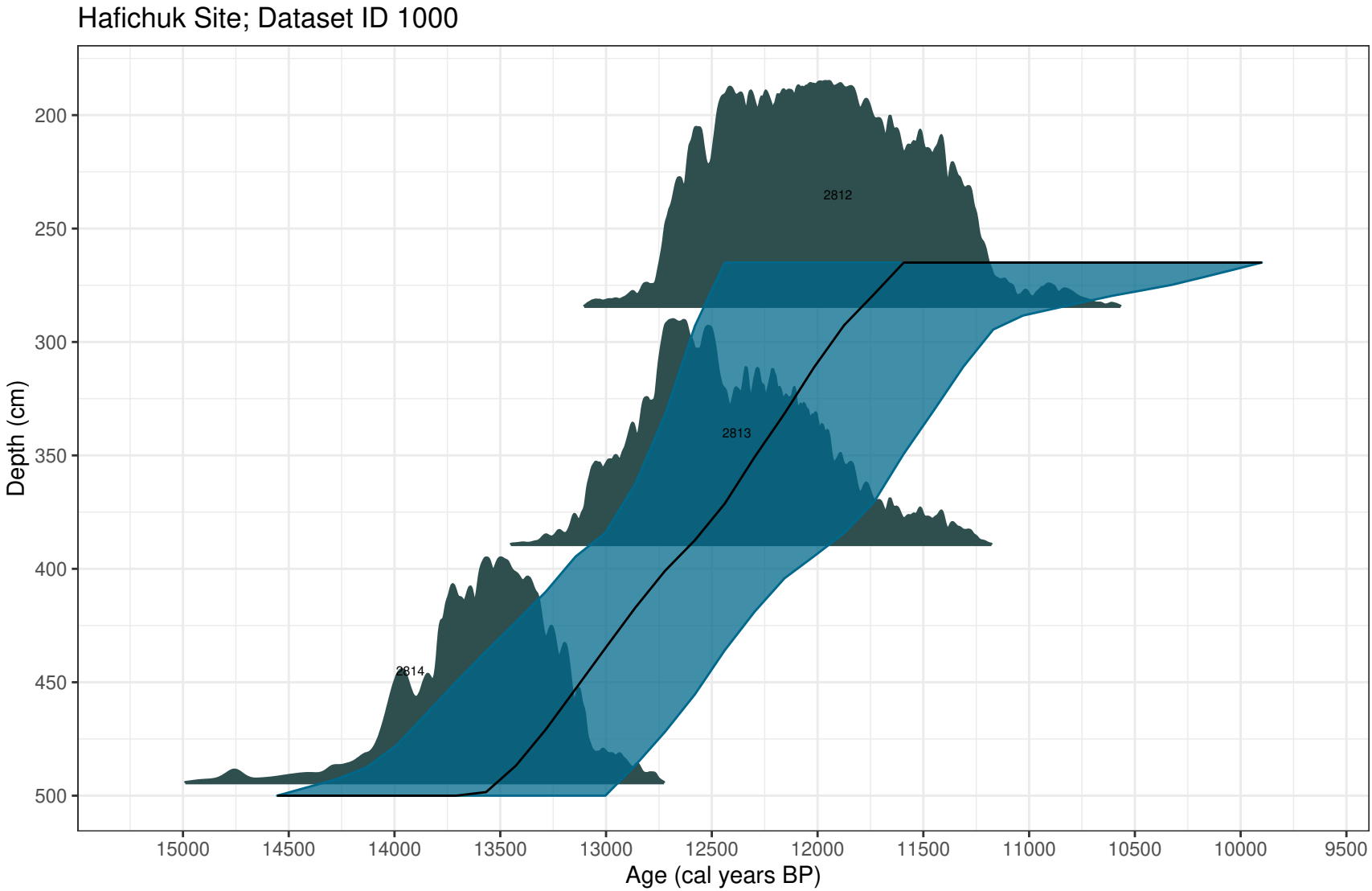
Hafichuk Site; Dataset ID 1000
Depth (cm)
200
250
300
350
400
450
500
2812
2813
2814
15000
14500
14000
13500
13000
12500
12000
11500
11000
10500
10000
9500
Age (cal years BP)

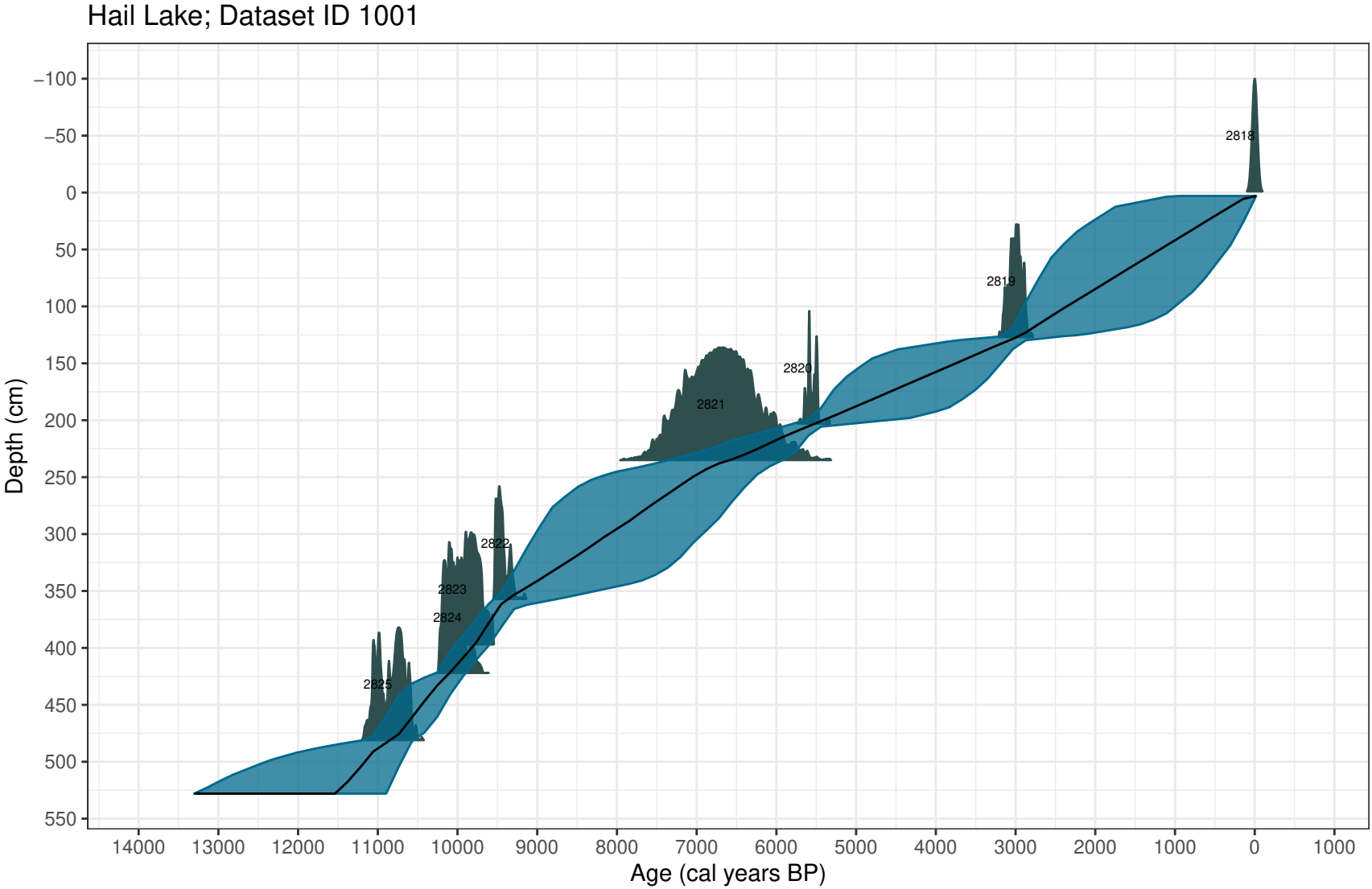
Hail Lake; Dataset ID 1001
Depth (cm)
Age (cal years BP)
2818
2819
2820
2821
2822
2823
2824
2825

Hams Lake; Dataset ID 1002

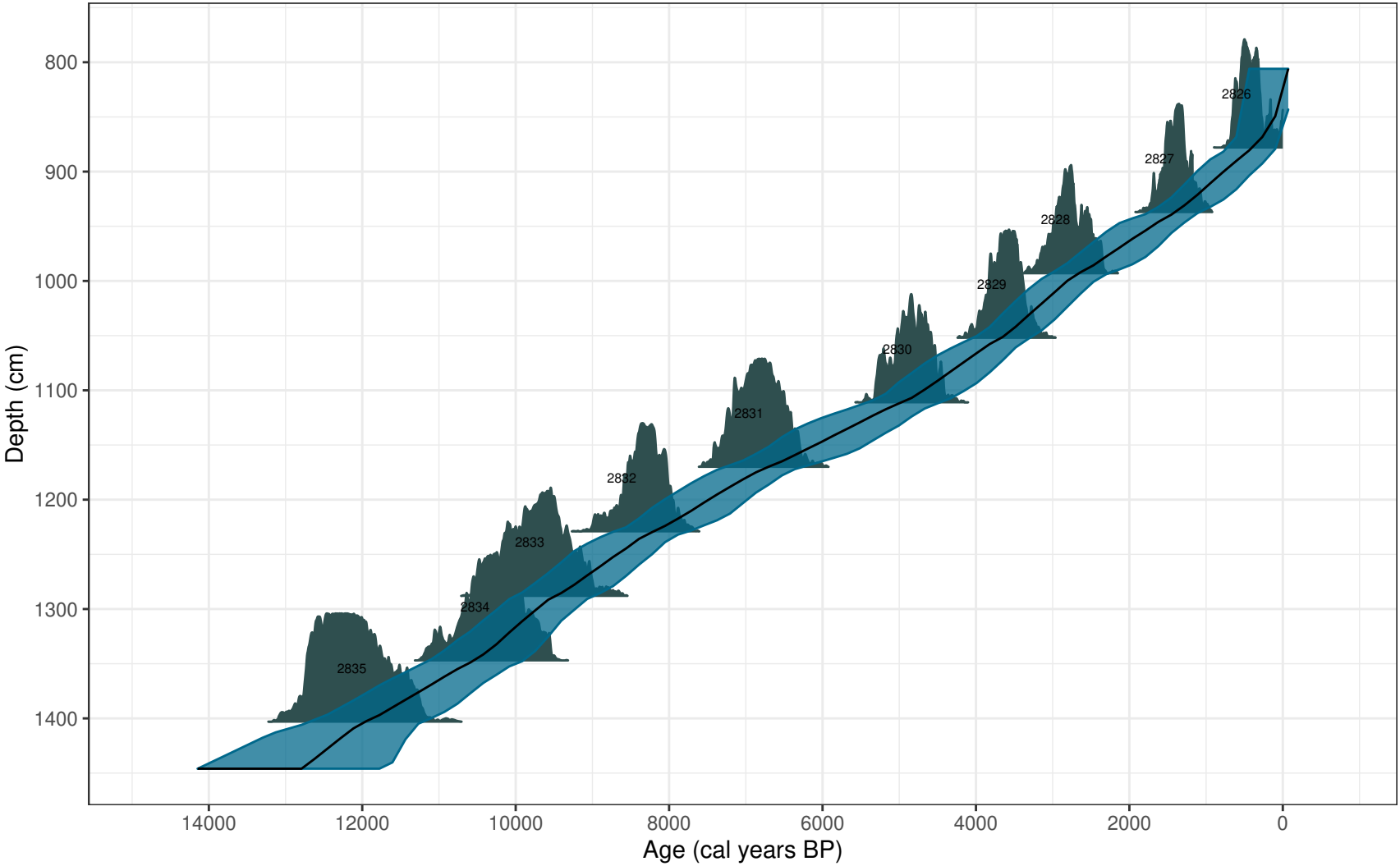

Hanging Lake; Dataset ID 1003

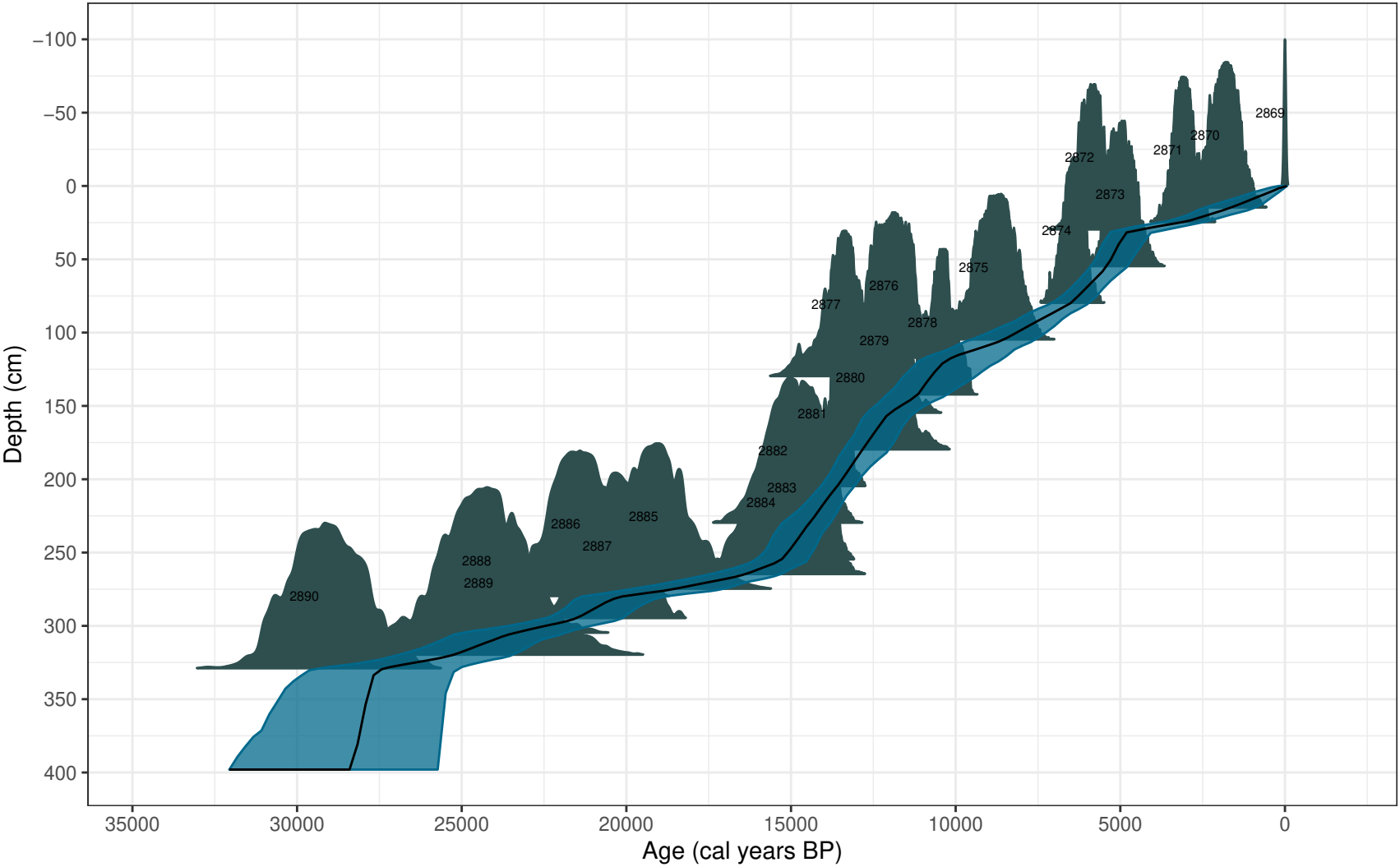

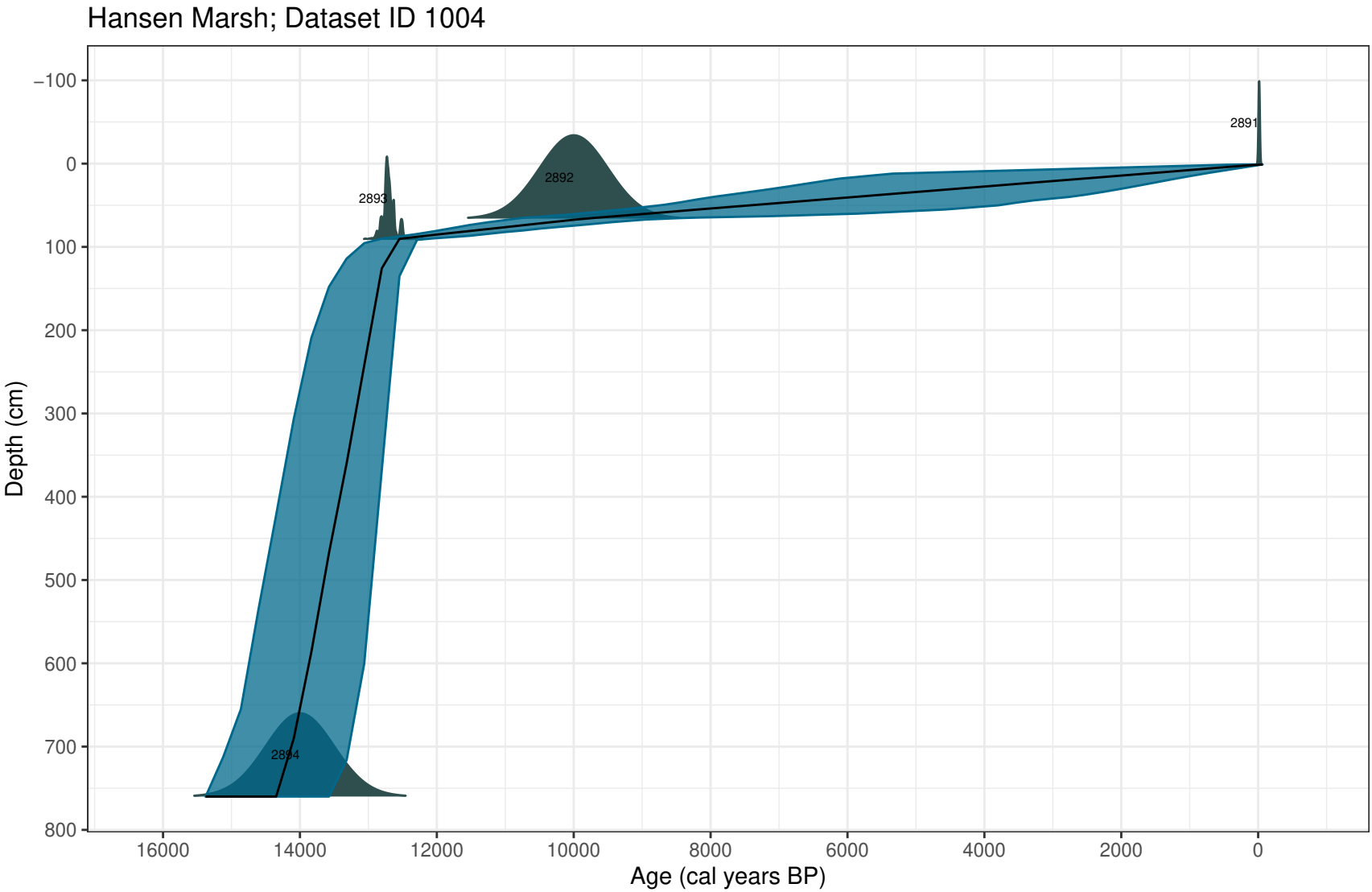
Hansen Marsh; Dataset ID 1004
Depth (cm)
−100
0
100
200
300
400
500
600
700
800
Age (cal years BP)
16000
14000
12000
10000
8000
6000
4000
2000
0
2891
2892
2893
2894

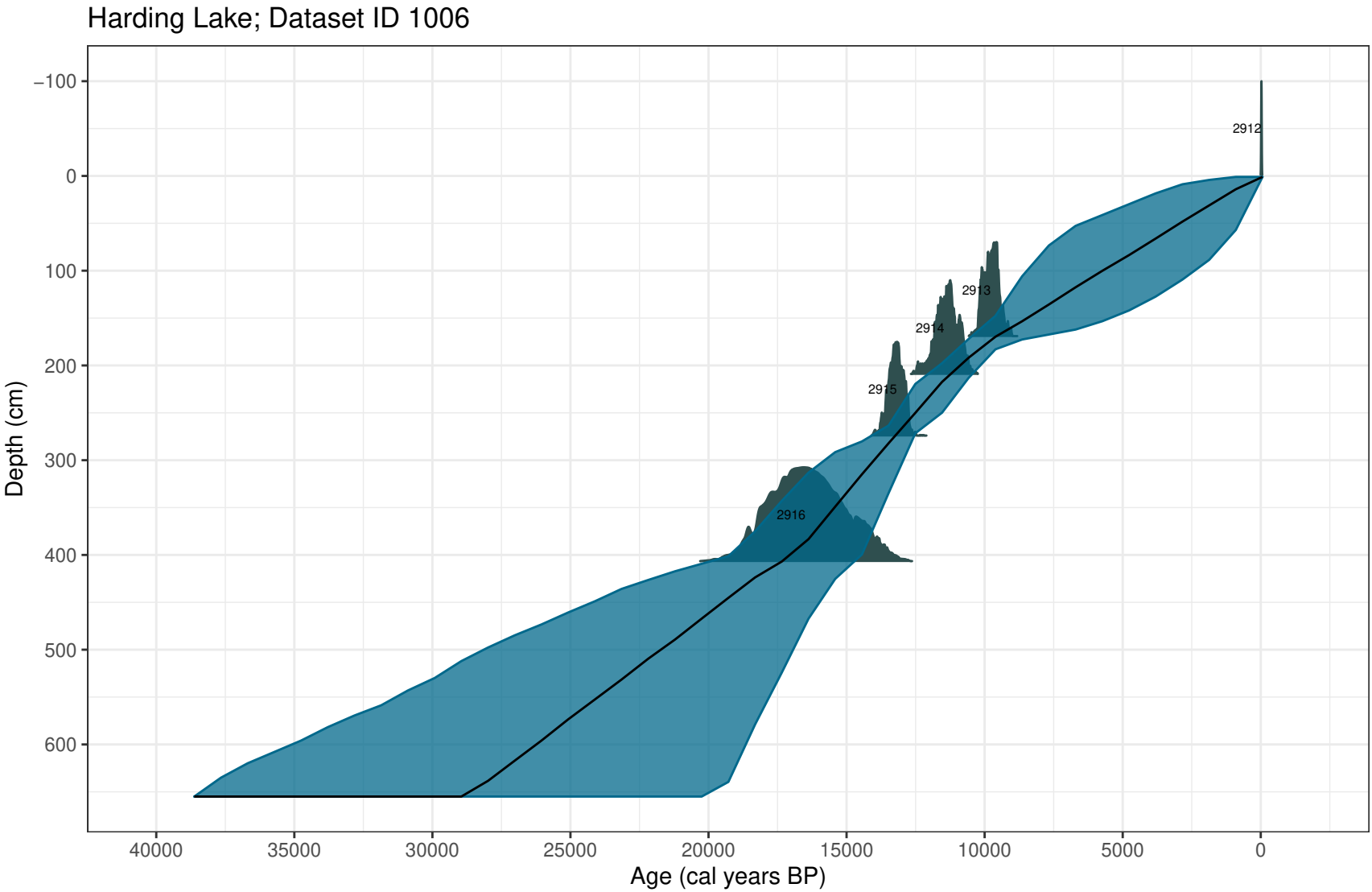
Harding Lake; Dataset ID 1006
Depth (cm)
−100
0
100
200
300
400
500
600
Age (cal years BP)
40000
35000
30000
25000
20000
15000
10000
5000
0
2912
2913
2914
2915
2916

Lac Harriman; Dataset ID 1007

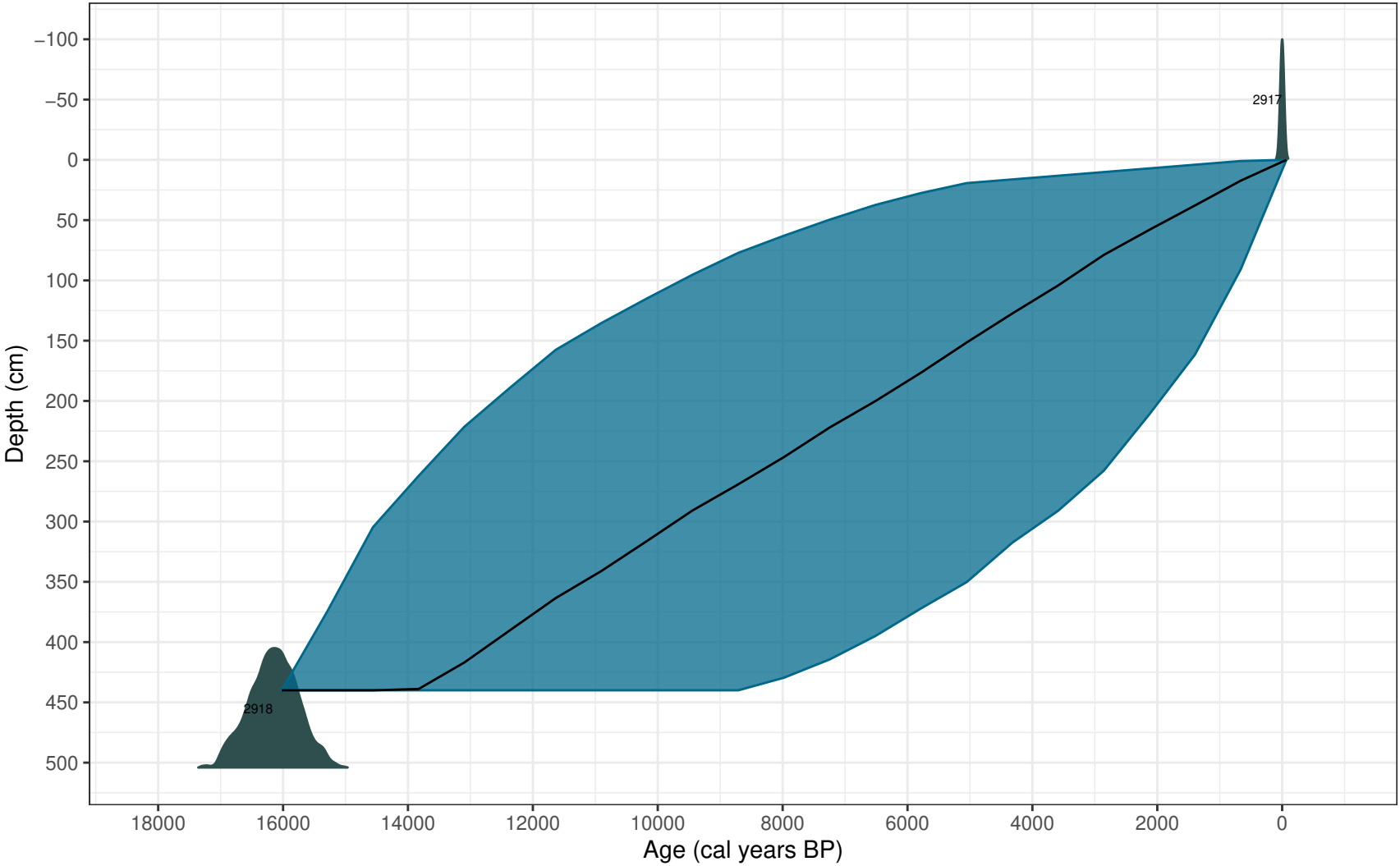

Harrie Lake; Dataset ID 1008

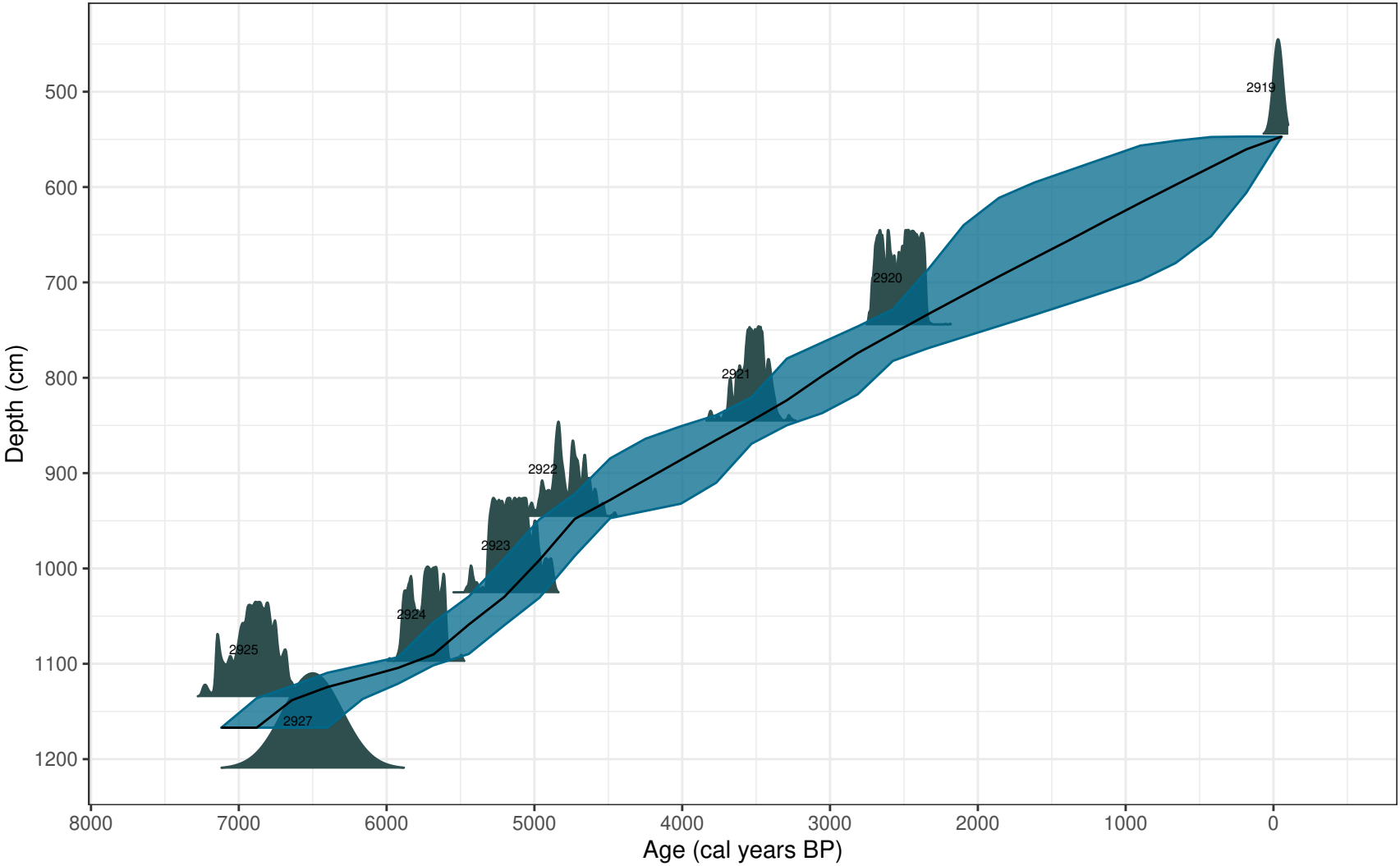

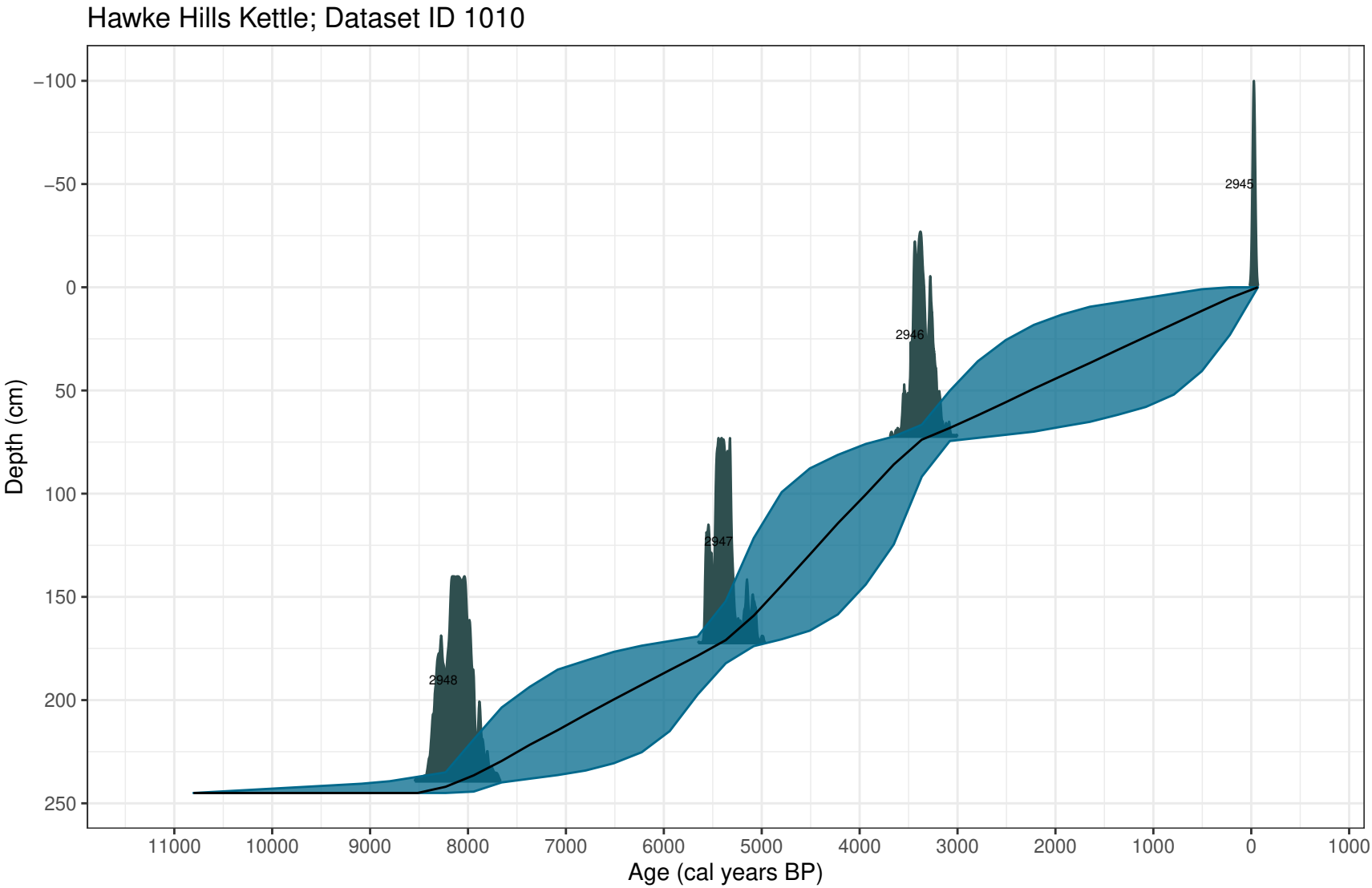
Hawke Hills Kettle; Dataset ID 1010
Depth (cm)
−100
−50
0
50
100
150
200
250
Age (cal years BP)
11000
10000
9000
8000
7000
6000
5000
4000
3000
2000
1000
0
1000
2945
2946
2947
2948

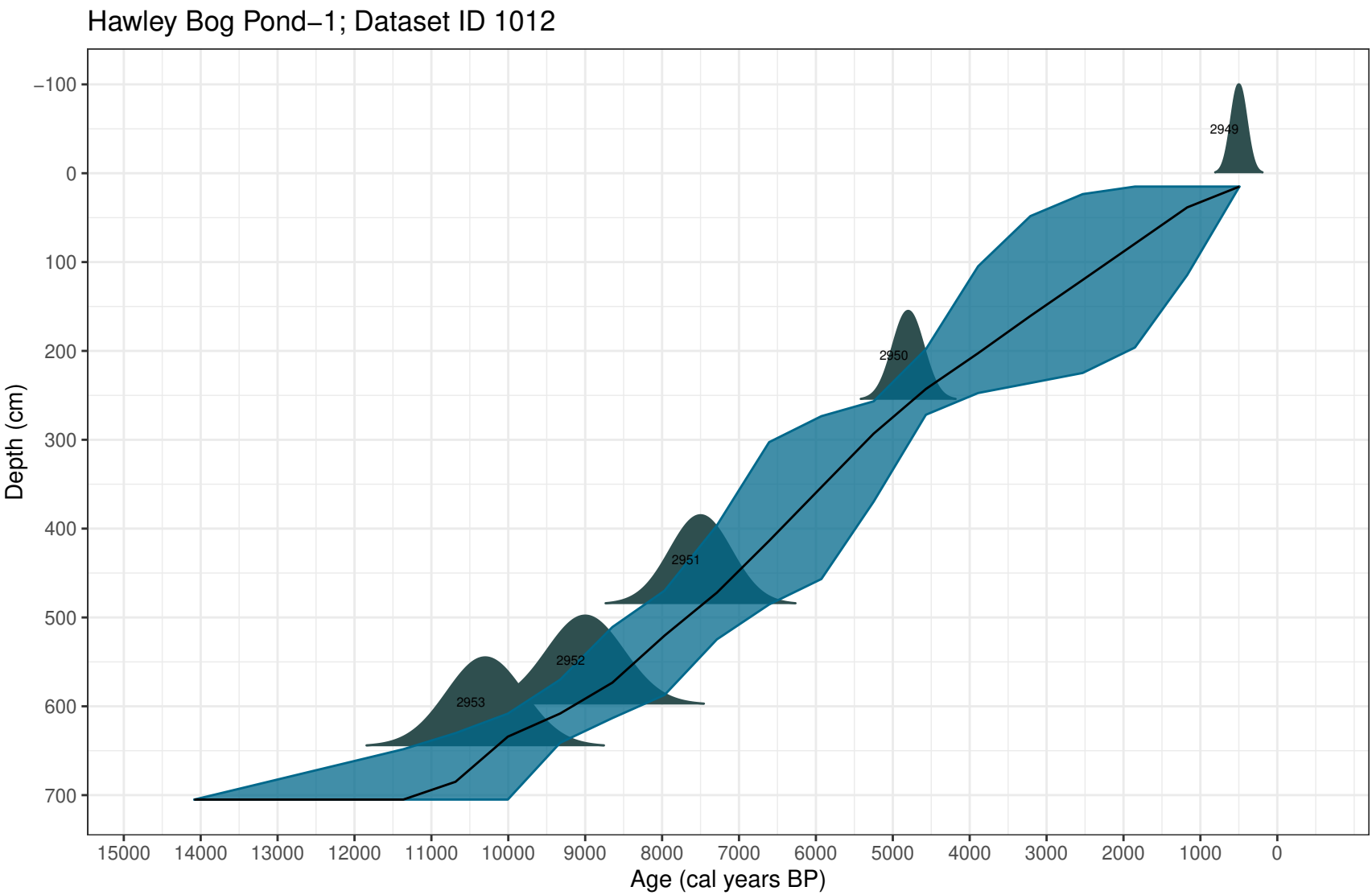
Hawley Bog Pond−1; Dataset ID 1012
Depth (cm)
−100
0
100
200
300
400
500
600
700
2949
2950
2951
2952
2953
15000
14000
13000
12000
11000
10000
9000
8000
7000
6000
5000
4000
3000
2000
1000
0
Age (cal years BP)

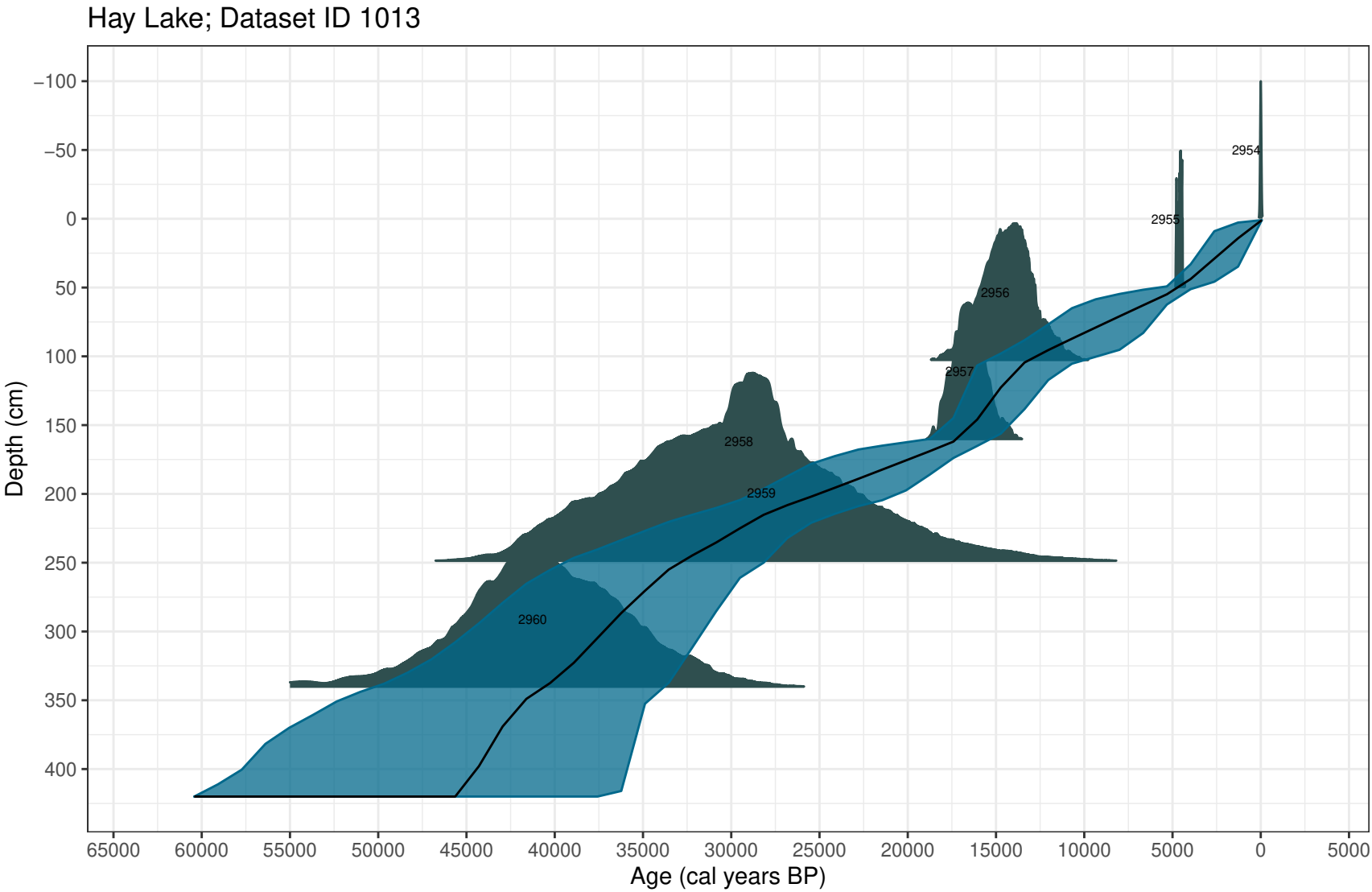
Hay Lake; Dataset ID 1013
Depth (cm)
−100
−50
0
50
100
150
200
250
300
350
400
Age (cal years BP)
65000
60000
55000
50000
45000
40000
35000
30000
25000
20000
15000
10000
5000
0
5000
2954
2955
2956
2957
2958
2959
2960

Headwaters Lake; Dataset ID 1024

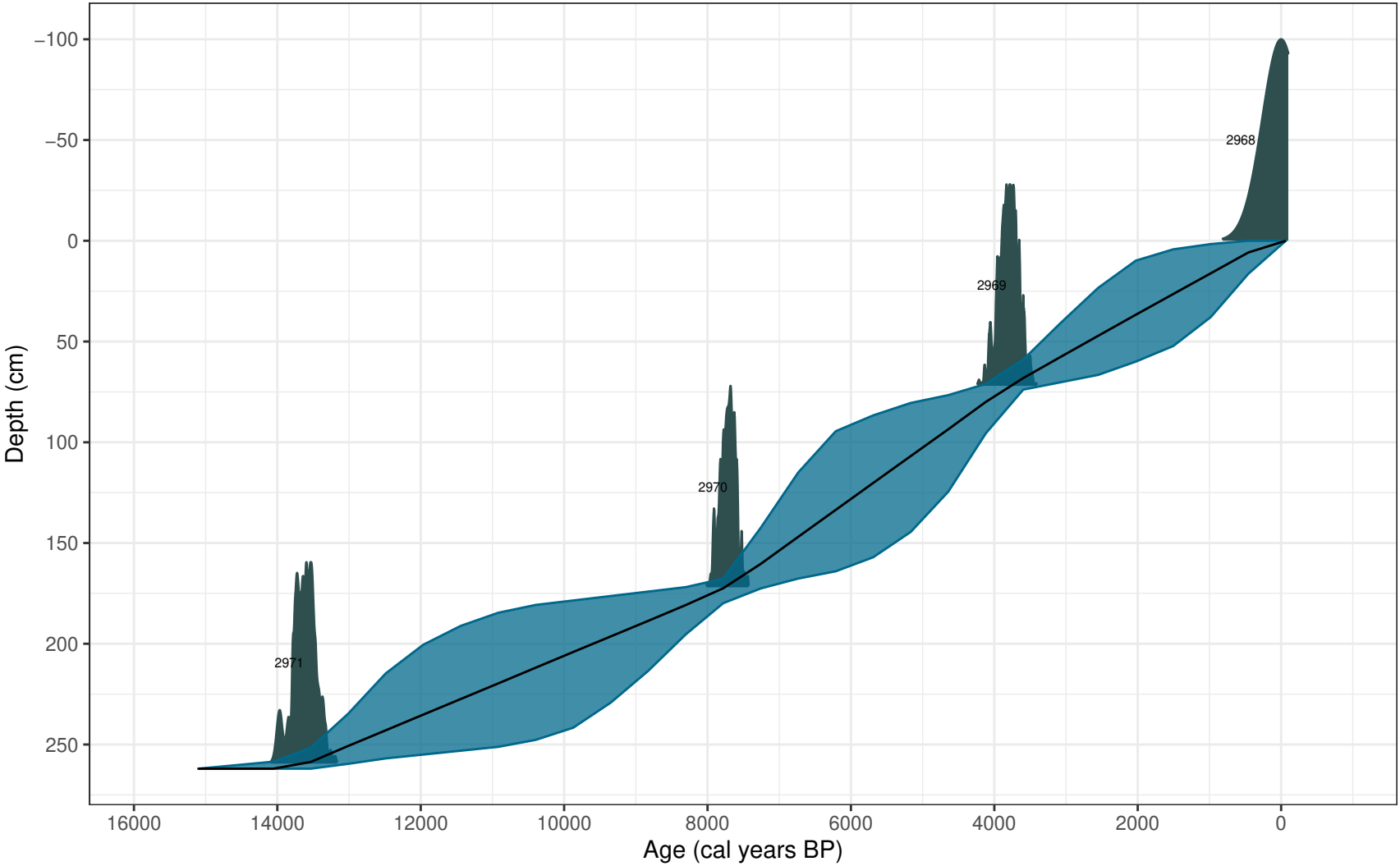

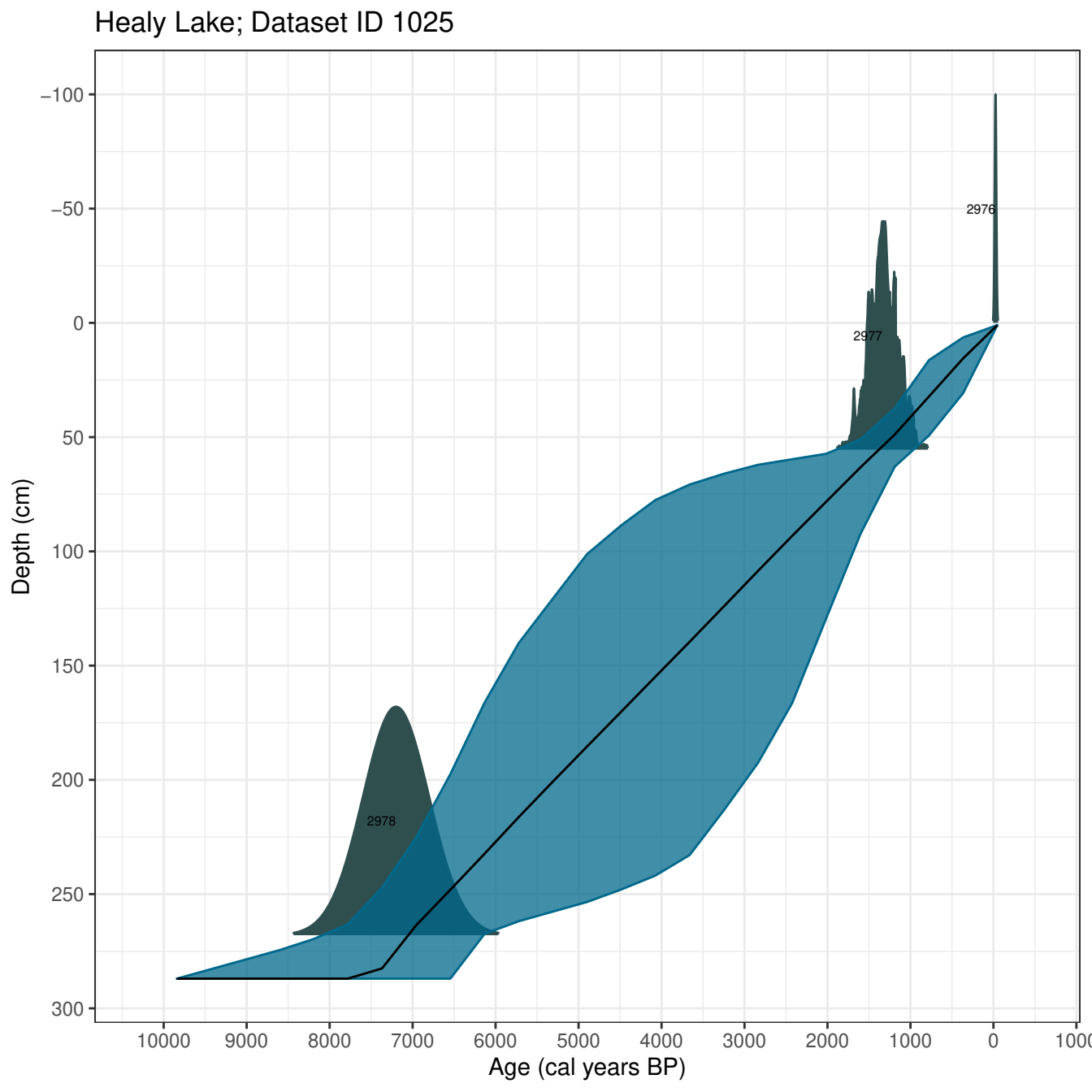
Healy Lake; Dataset ID 1025
Depth (cm)
−100
−50
0
50
100
150
200
250
300
2976
2977
2978
10000
9000
8000
7000
6000
5000
4000
3000
2000
1000
0
1000
Age (cal years BP)

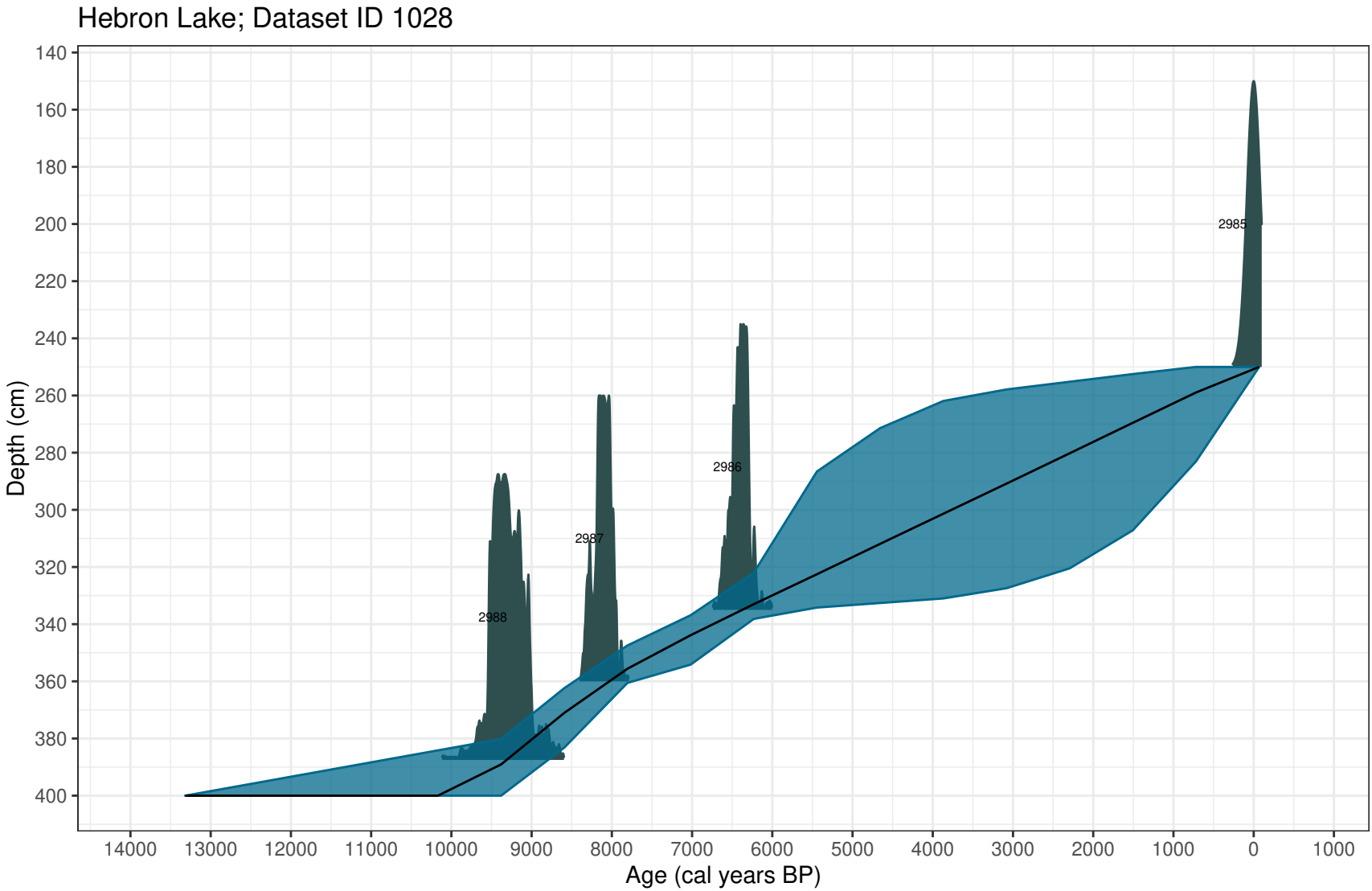
Hebron Lake; Dataset ID 1028
Depth (cm)
140
160
180
200
220
240
260
280
300
320
340
360
380
400
2985
2986
2987
2988
14000
13000
12000
11000
10000
9000
8000
7000
6000
5000
4000
3000
2000
1000
0
1000
Age (cal years BP)

Hedrick Pond; Dataset ID 1030

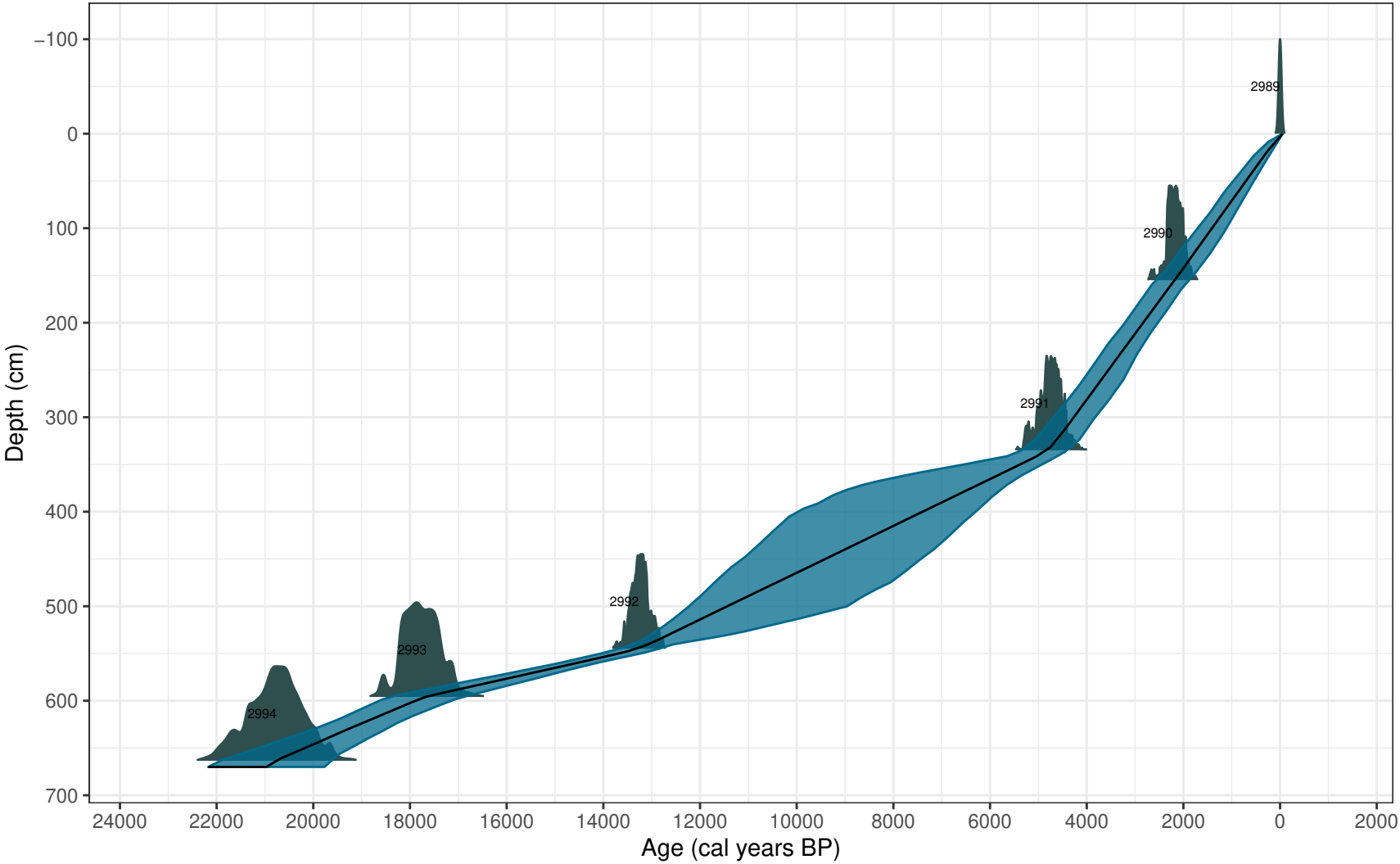

Helmetta Bog; Dataset ID 1031

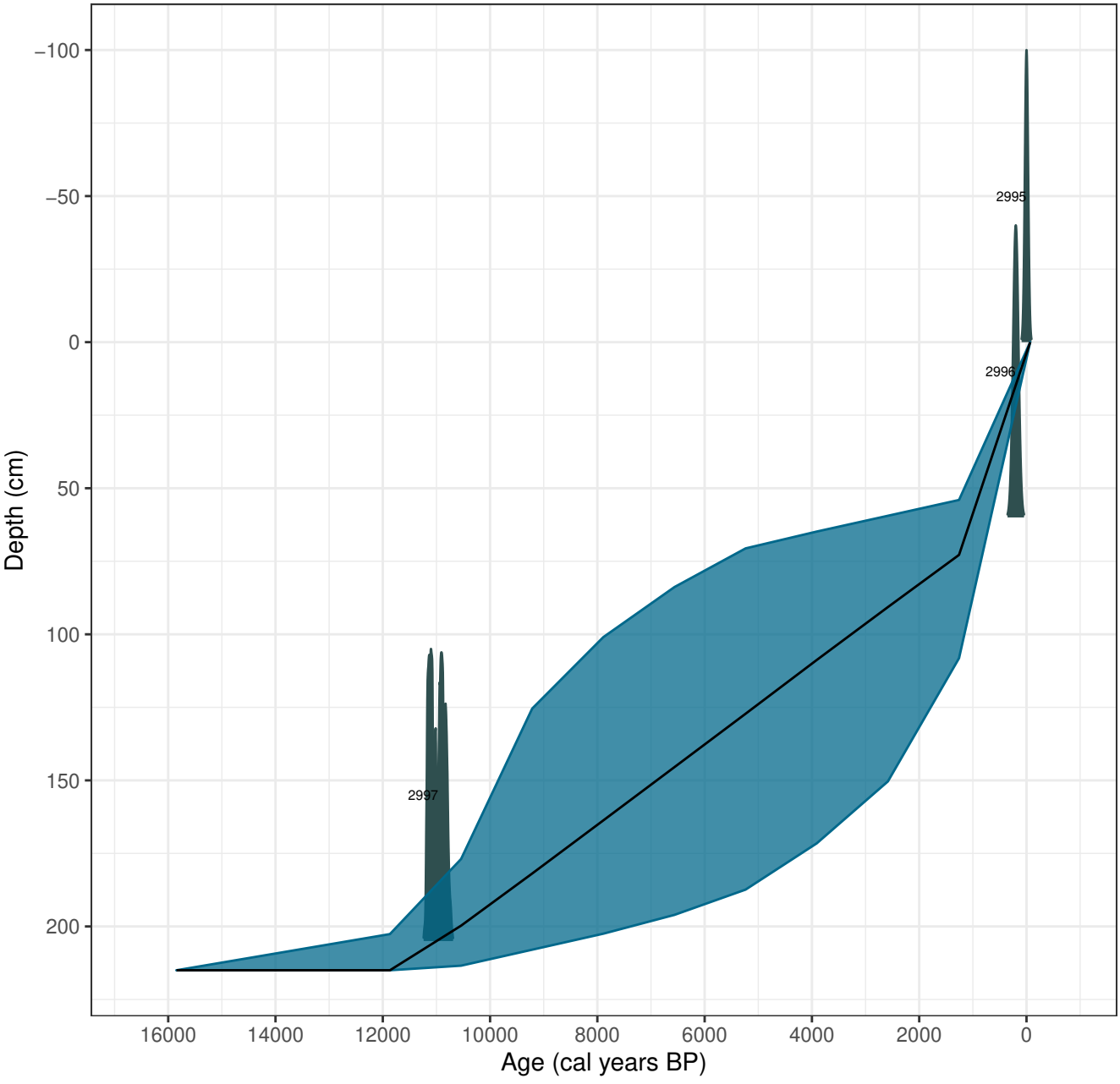

Tourbière de Lanoraie HENRI; Dataset ID 1033

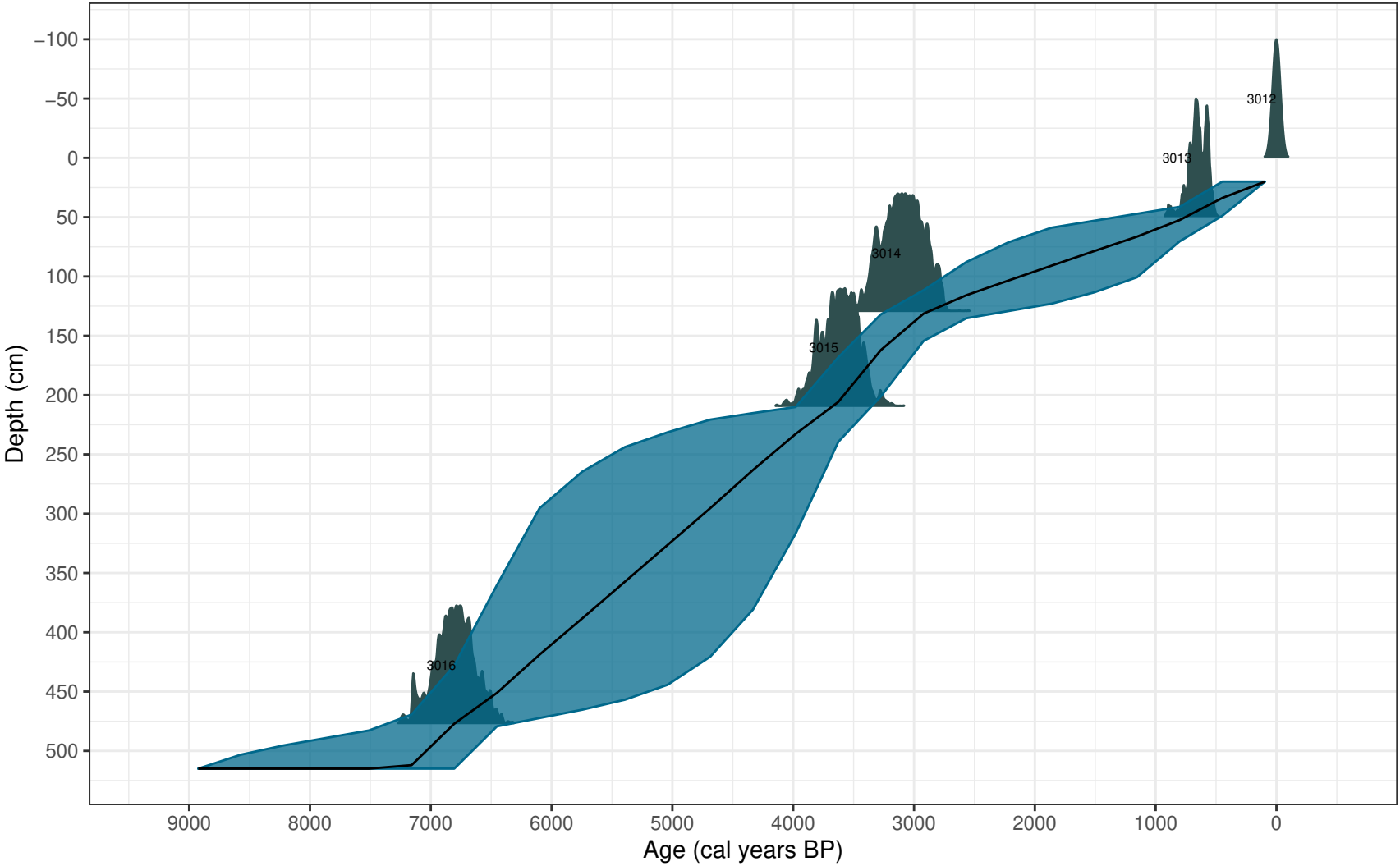

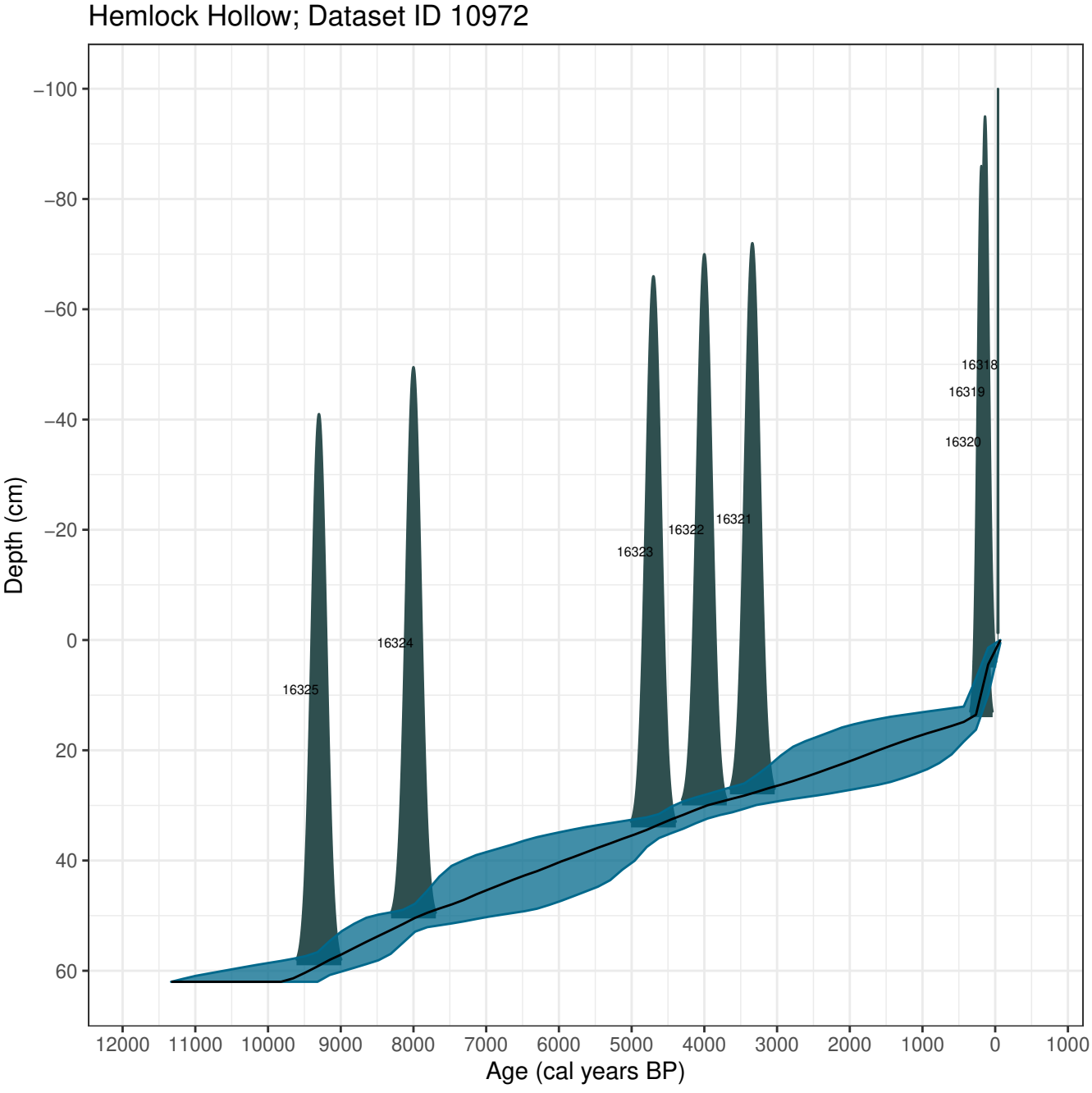
Hemlock Hollow; Dataset ID 10972
Depth (cm)
−100
−80
−60
−40
−20
0
20
40
60
16318
16319
16320
16321
16322
16323
16324
16325
12000
11000
10000
9000
8000
7000
6000
5000
4000
3000
2000
1000
0
1000
Age (cal years BP)

Little Dyke Lake; Dataset ID 10981

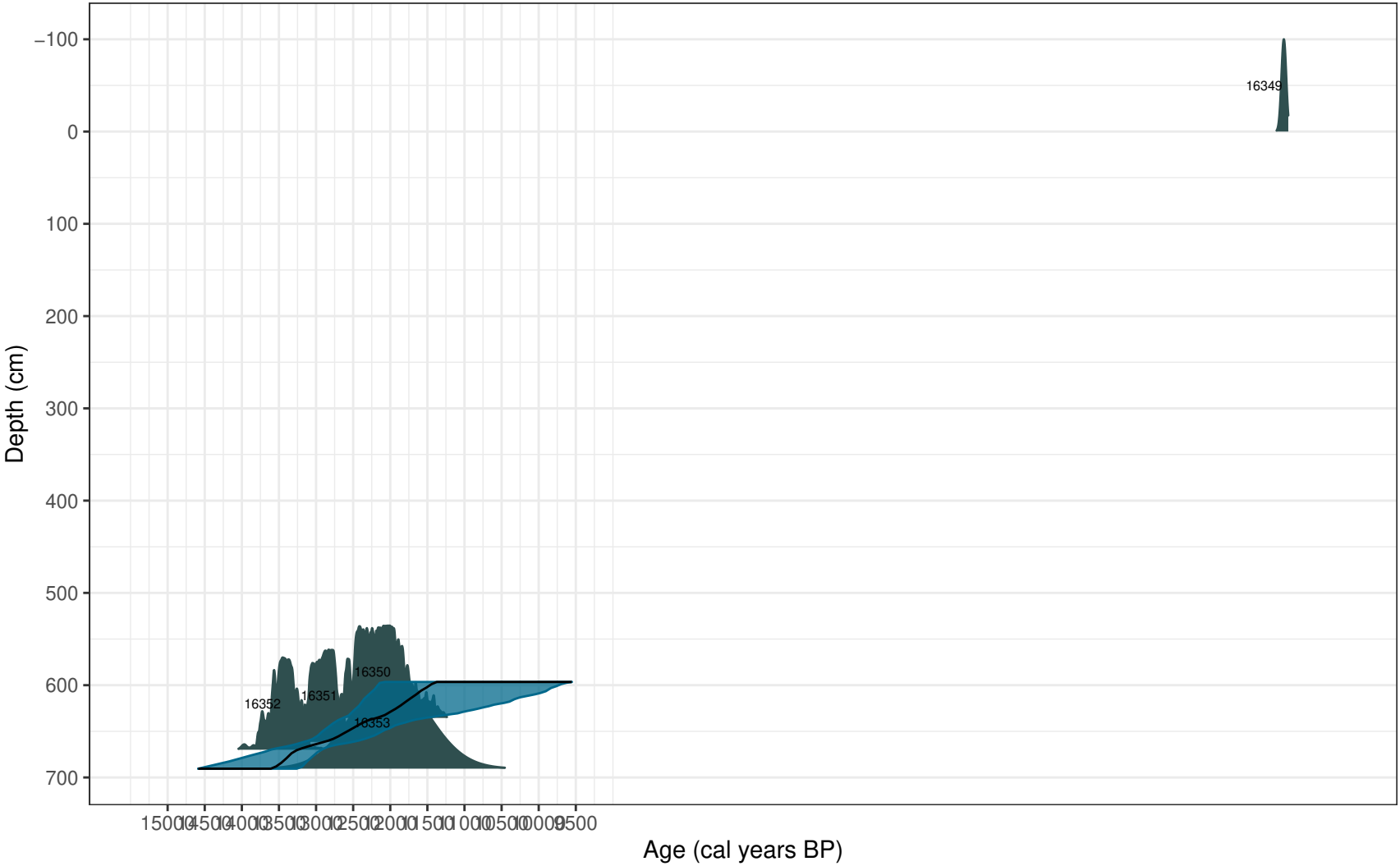

Hidden Lake; Dataset ID 1104

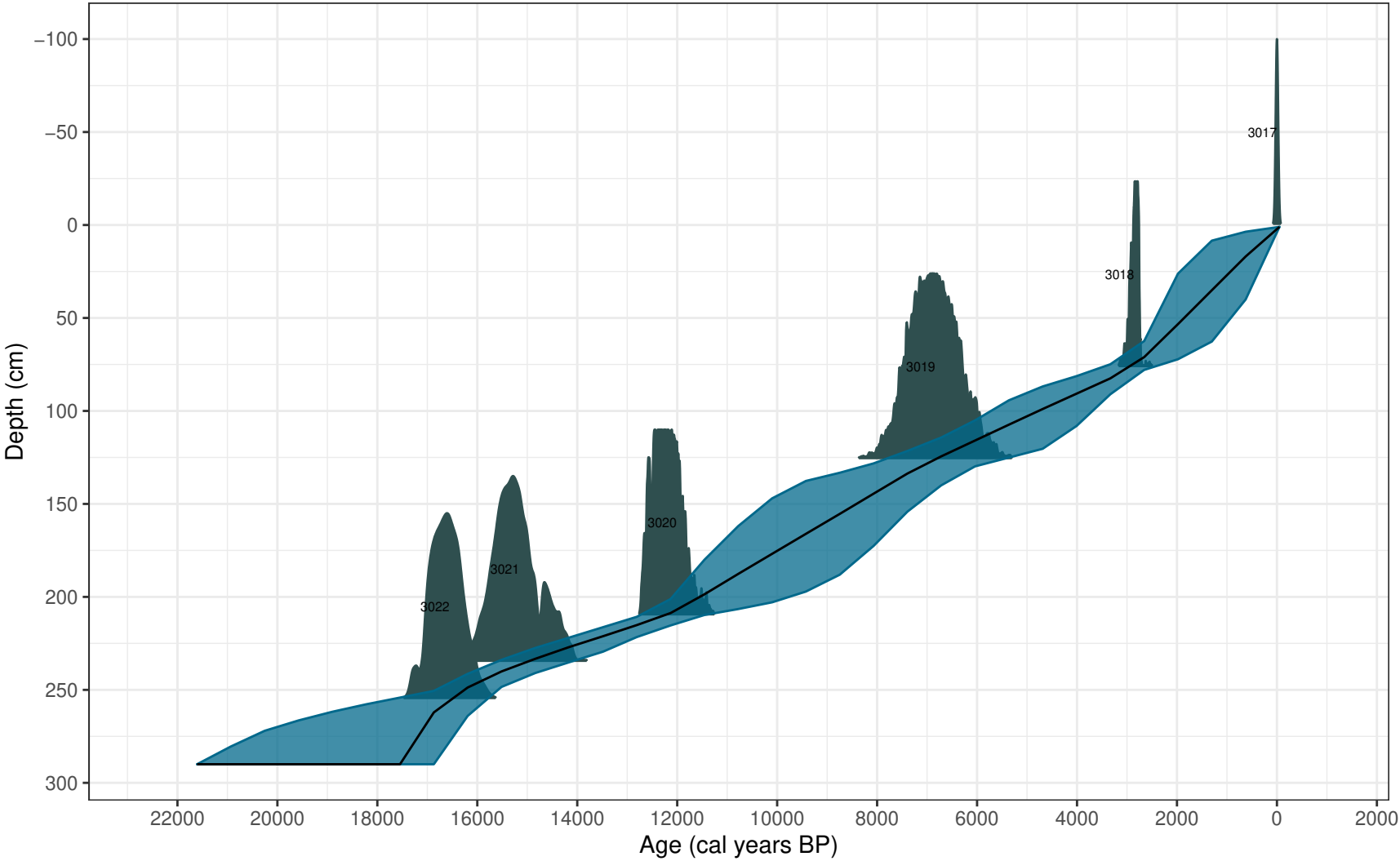

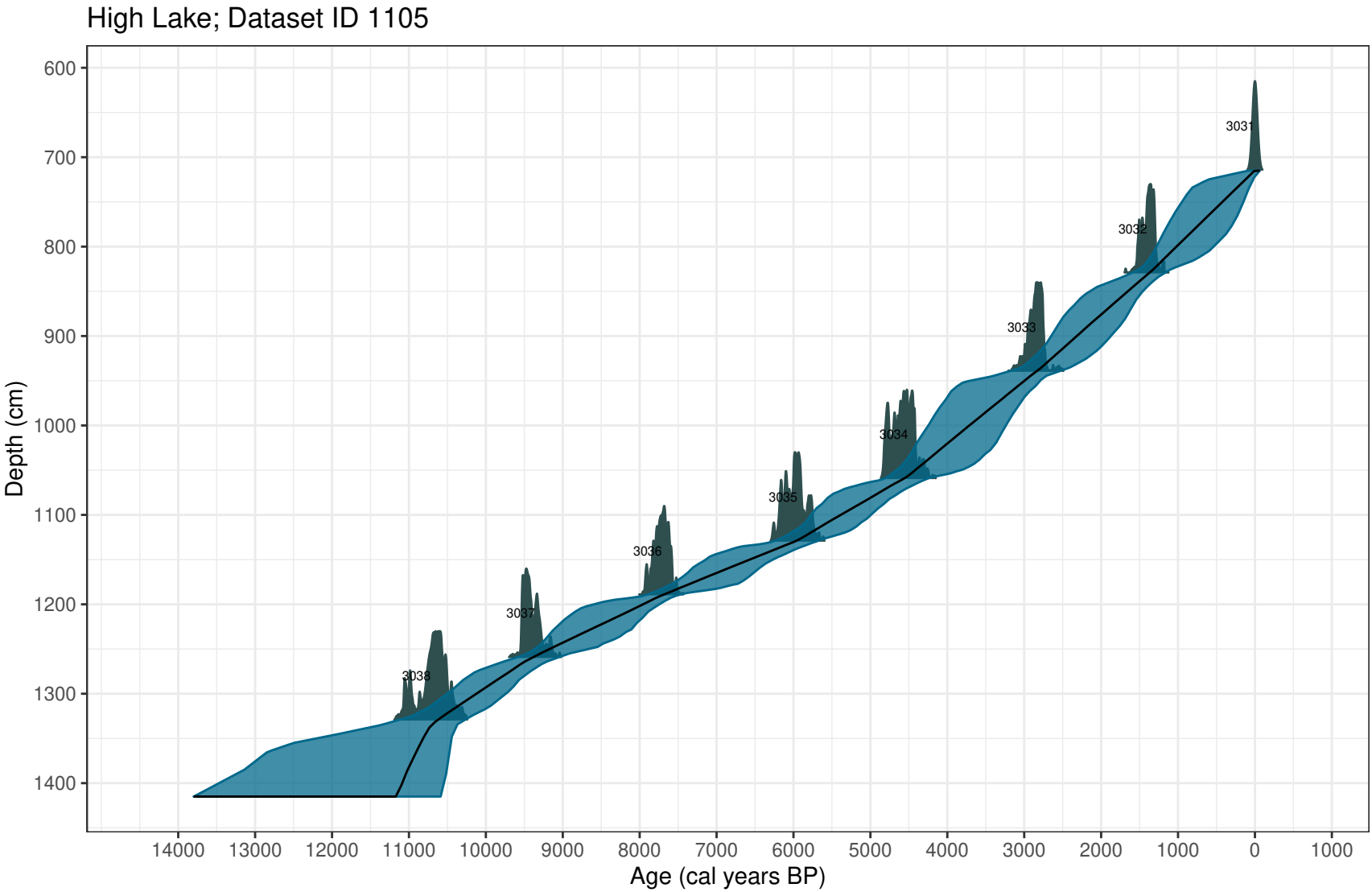
High Lake; Dataset ID 1105
Depth (cm)
600
700
800
900
1000
1100
1200
1300
1400
Age (cal years BP)
14000
13000
12000
11000
10000
9000
8000
7000
6000
5000
4000
3000
2000
1000
0
1000
3031
3032
3033
3034
3035
3036
3037
3038

Honeymoon Pond; Dataset ID 1107

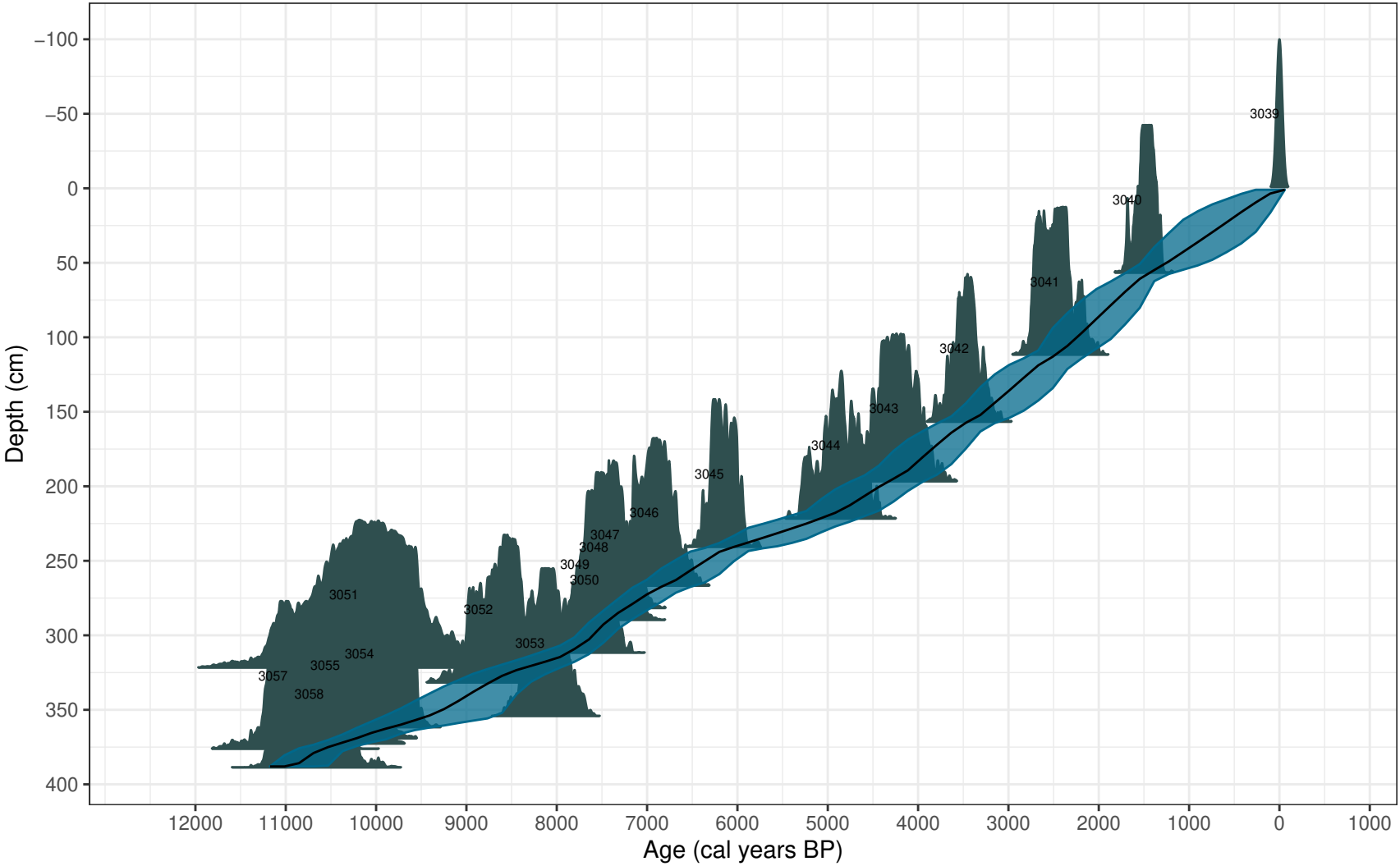

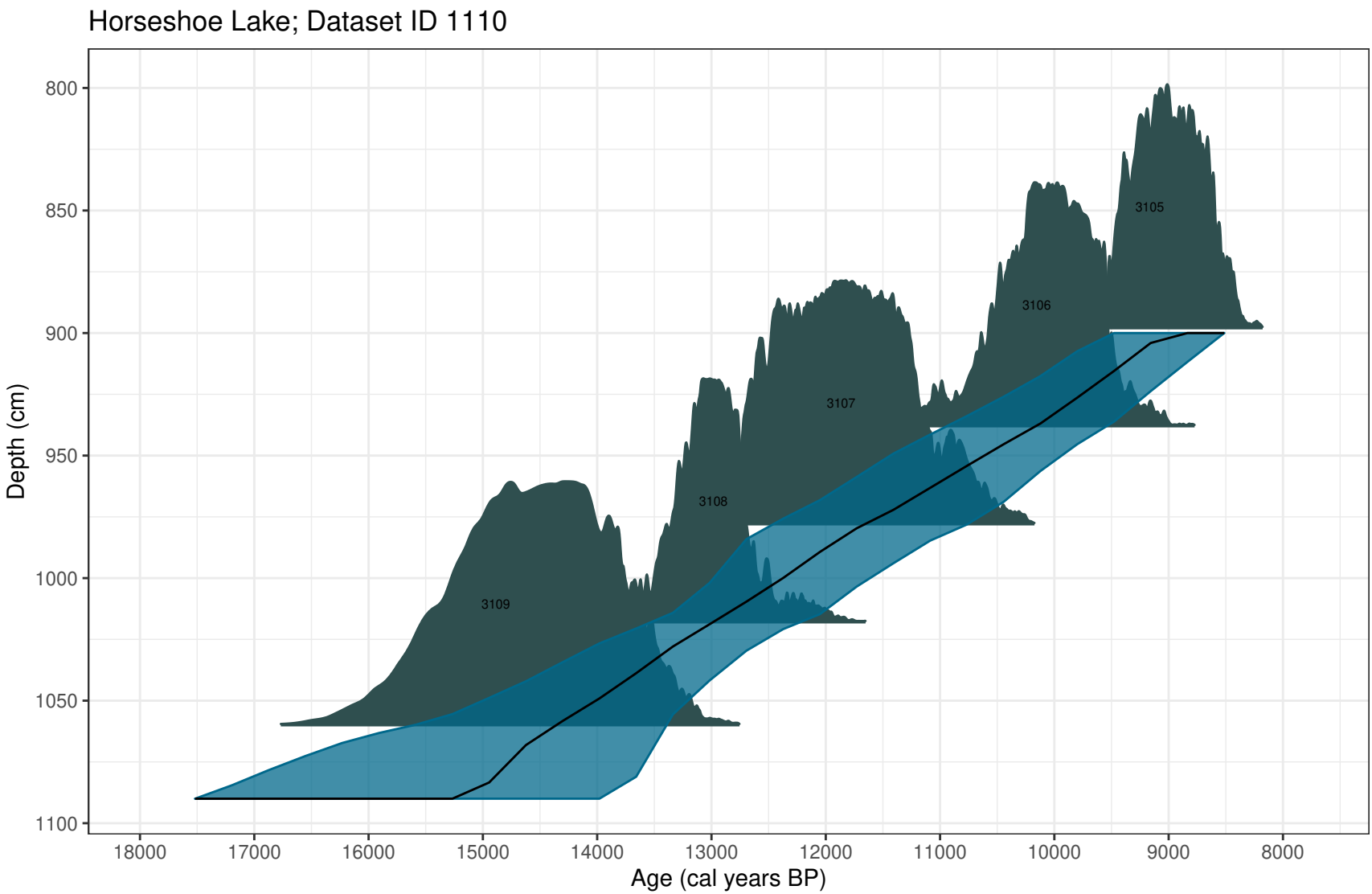
Horseshoe Lake; Dataset ID 1110
Depth (cm)
800
850
900
950
1000
1050
1100
18000
17000
16000
15000
14000
13000
12000
11000
10000
9000
8000
Age (cal years BP)
3105
3106
3107
3108
3109

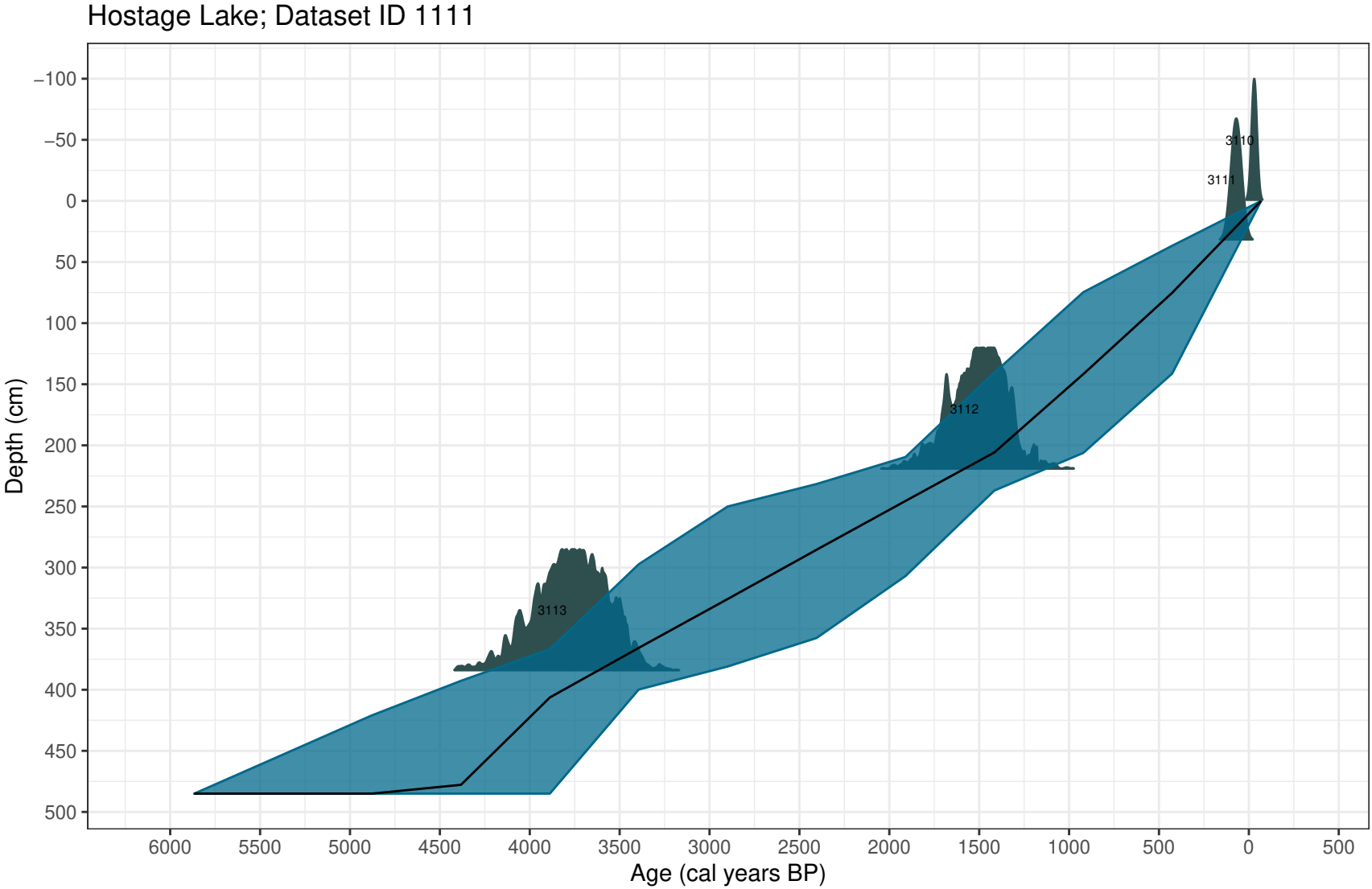
Hostage Lake; Dataset ID 1111
Depth (cm)
−100
−50
0
50
100
150
200
250
300
350
400
450
500
Age (cal years BP)
6000
5500
5000
4500
4000
3500
3000
2500
2000
1500
1000
500
0
500
3110
3111
3112
3113

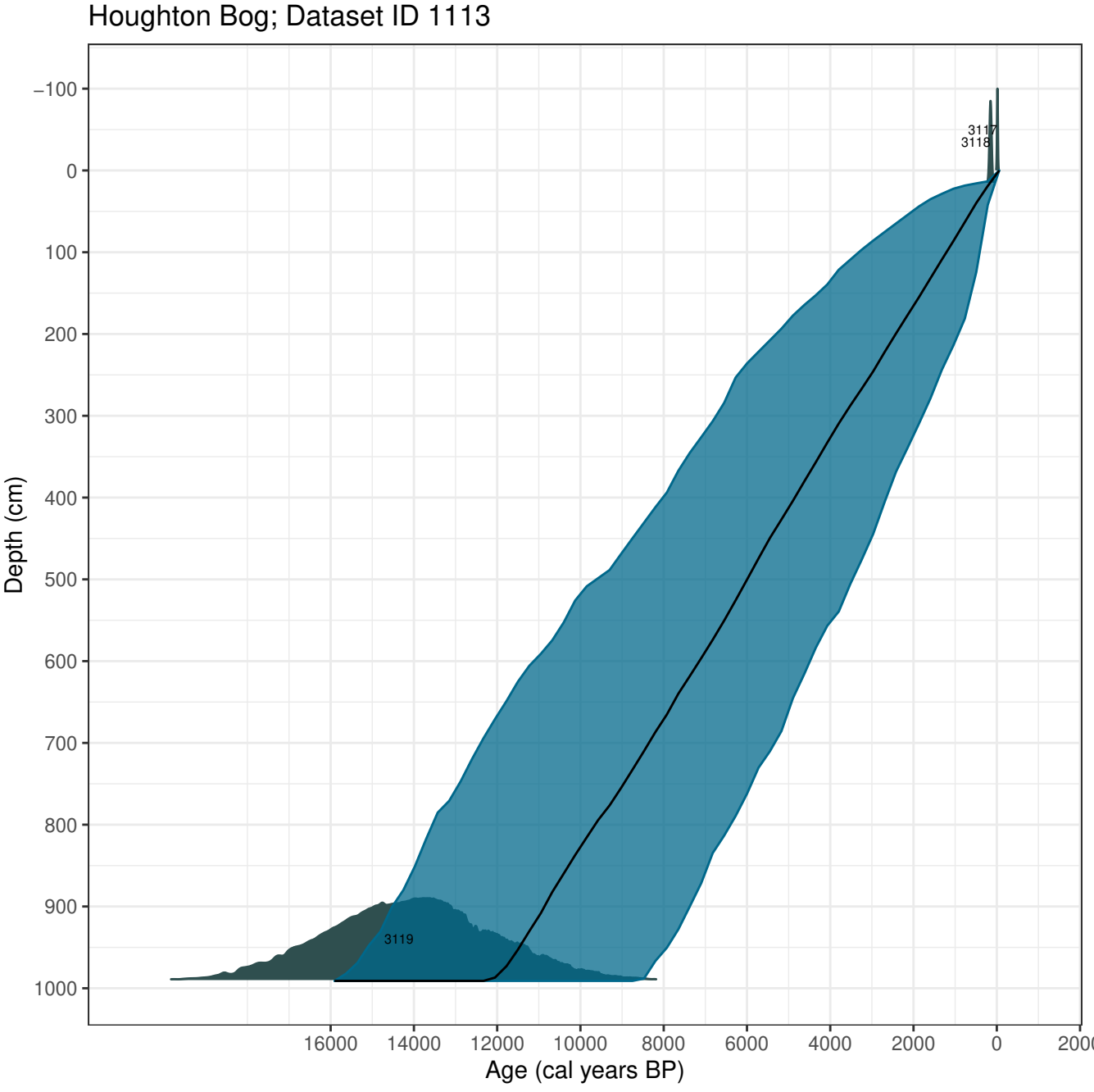
Houghton Bog; Dataset ID 1113
Depth (cm)
−100
0
100
200
300
400
500
600
700
800
900
1000
3117
3118
3119
16000
14000
12000
10000
8000
6000
4000
2000
0
Age (cal years BP)

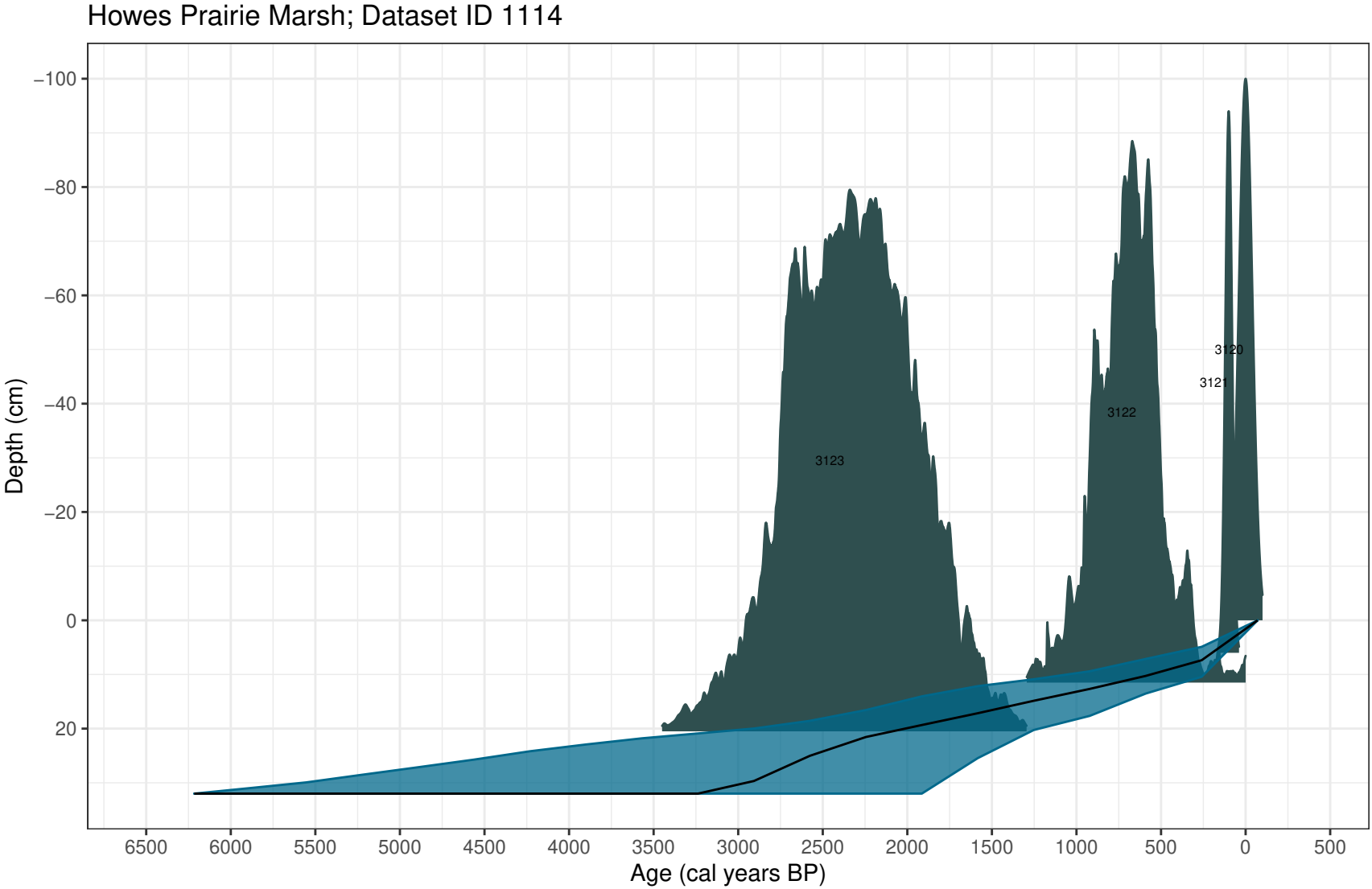
Howes Prairie Marsh; Dataset ID 1114
Depth (cm)
−100
−80
−60
−40
−20
0
20
3123
3122
3121
3120
6500
6000
5500
5000
4500
4000
3500
3000
2500
2000
1500
1000
500
0
500
Age (cal years BP)

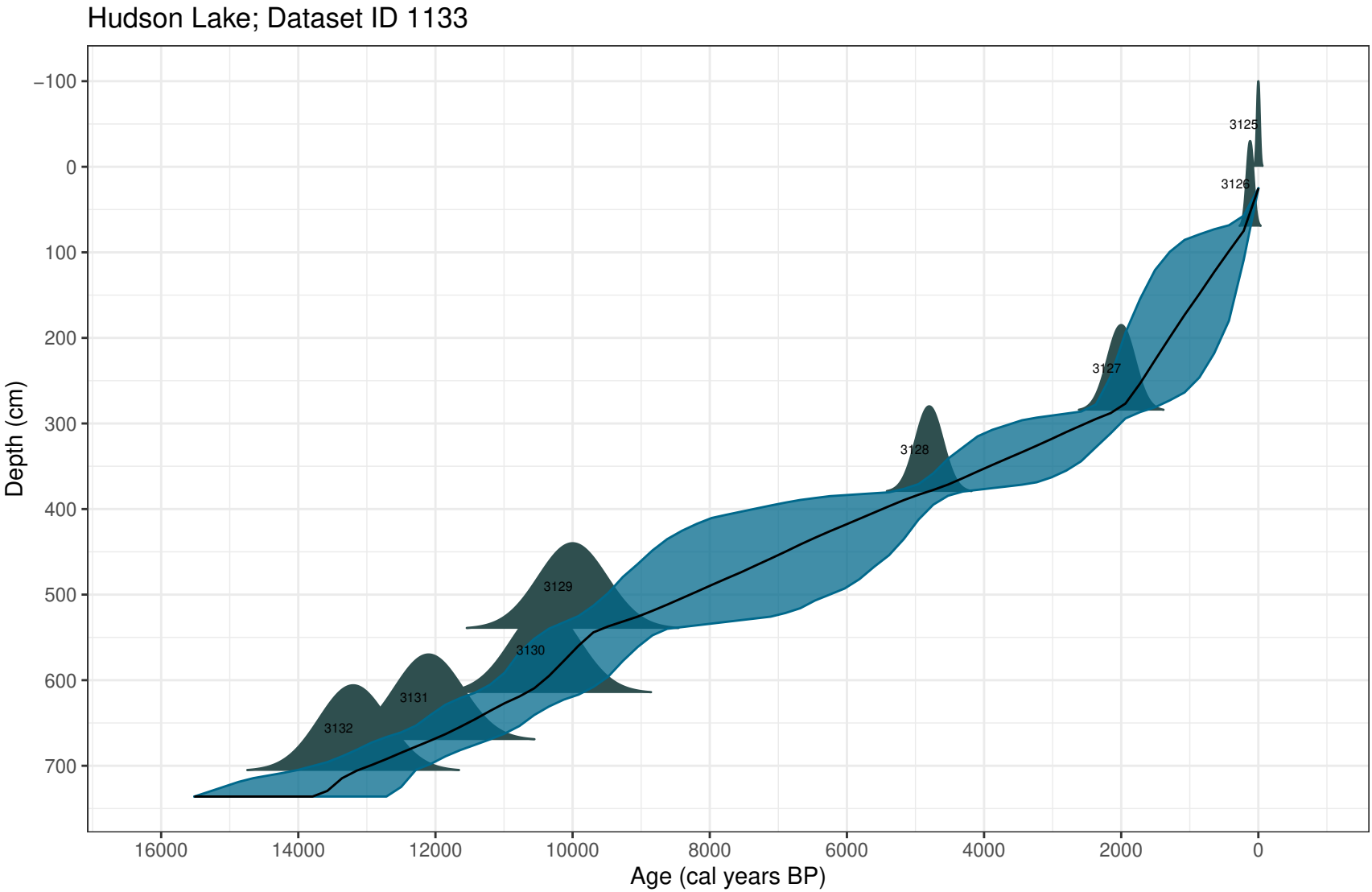
Hudson Lake; Dataset ID 1133
Depth (cm)
−100
0
100
200
300
400
500
600
700
Age (cal years BP)
16000
14000
12000
10000
8000
6000
4000
2000
0
3125
3126
3127
3128
3129
3130
3131
3132

Humber Pond 3; Dataset ID 1135

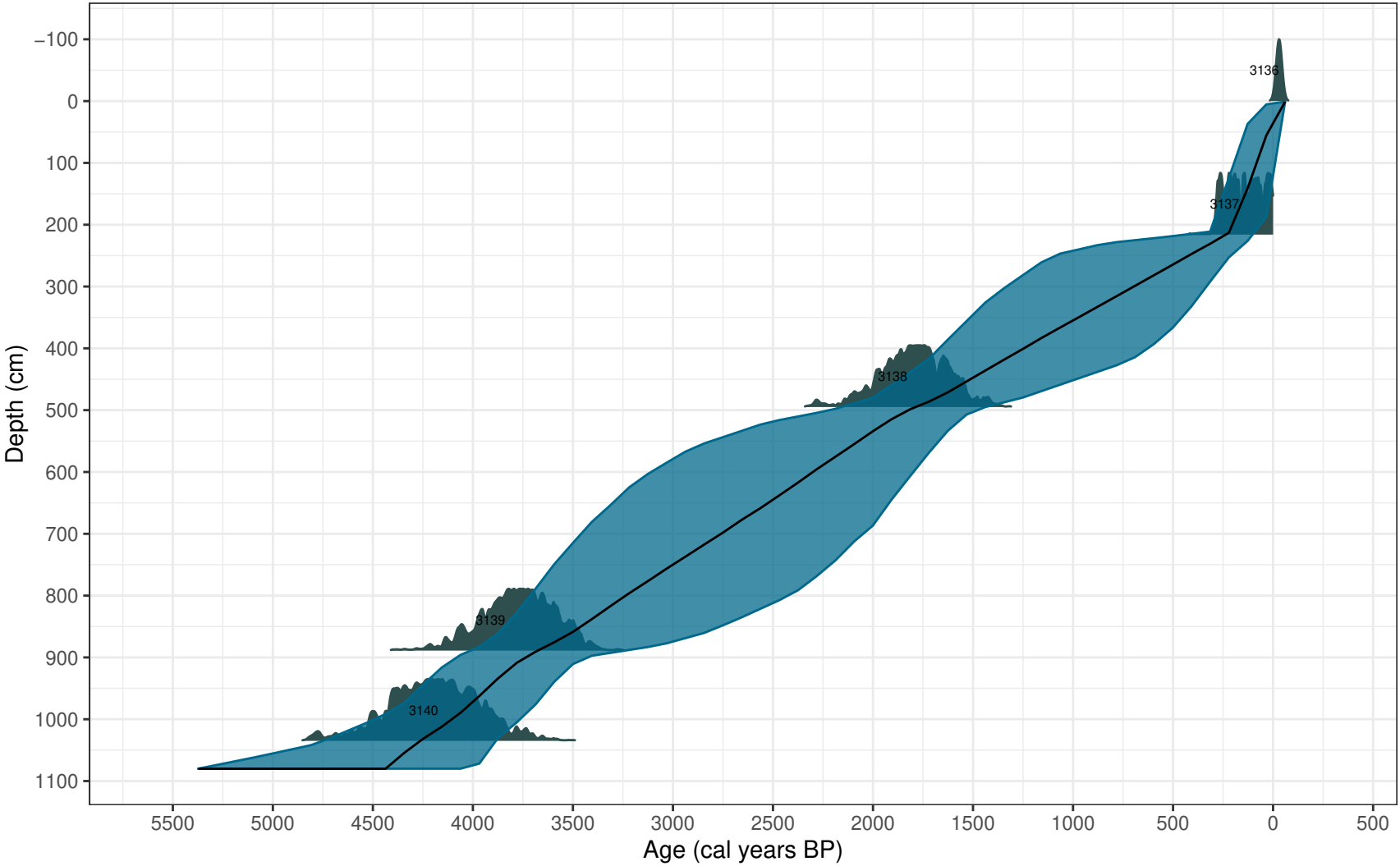

Humber Pond 5; Dataset ID 1136

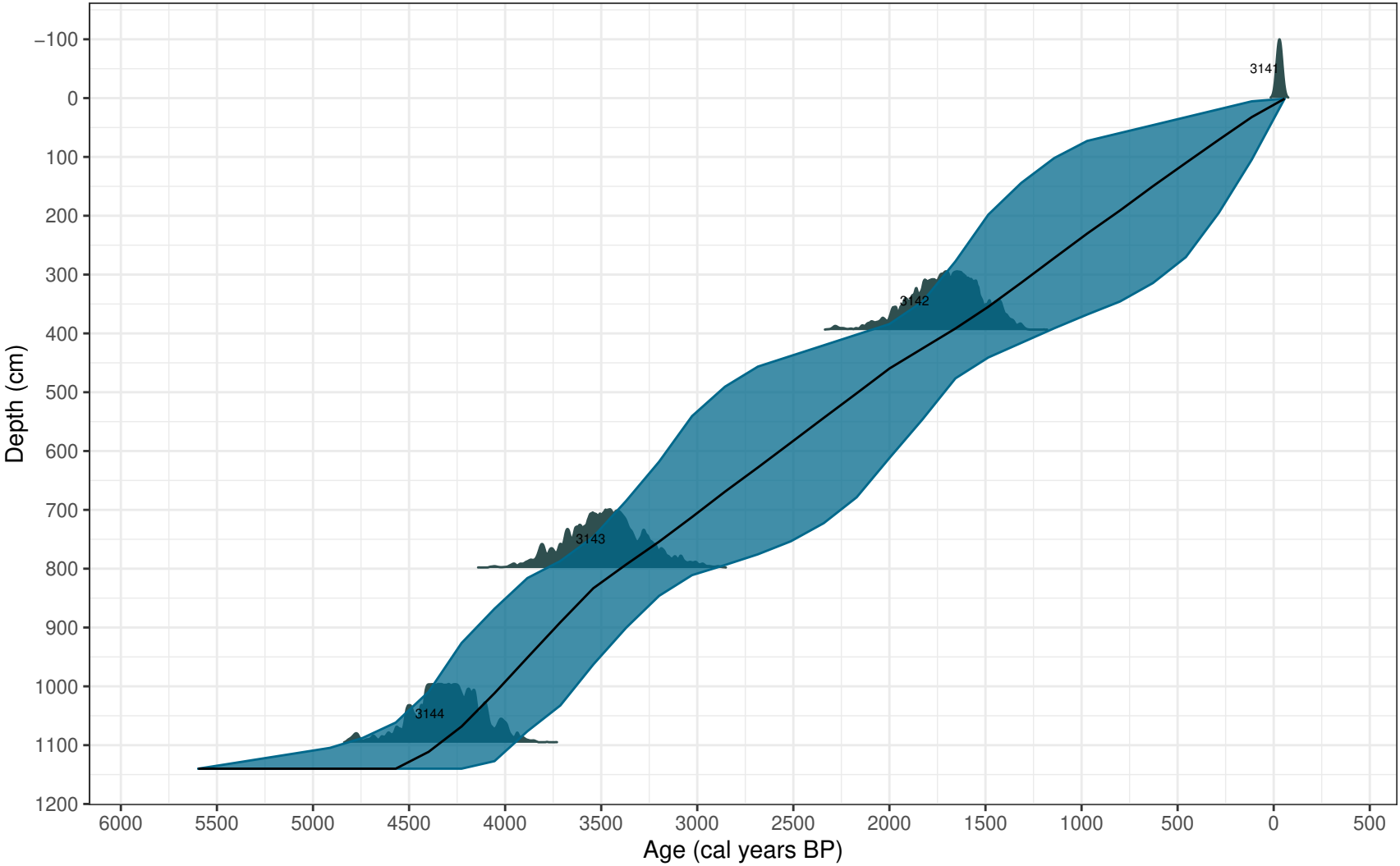

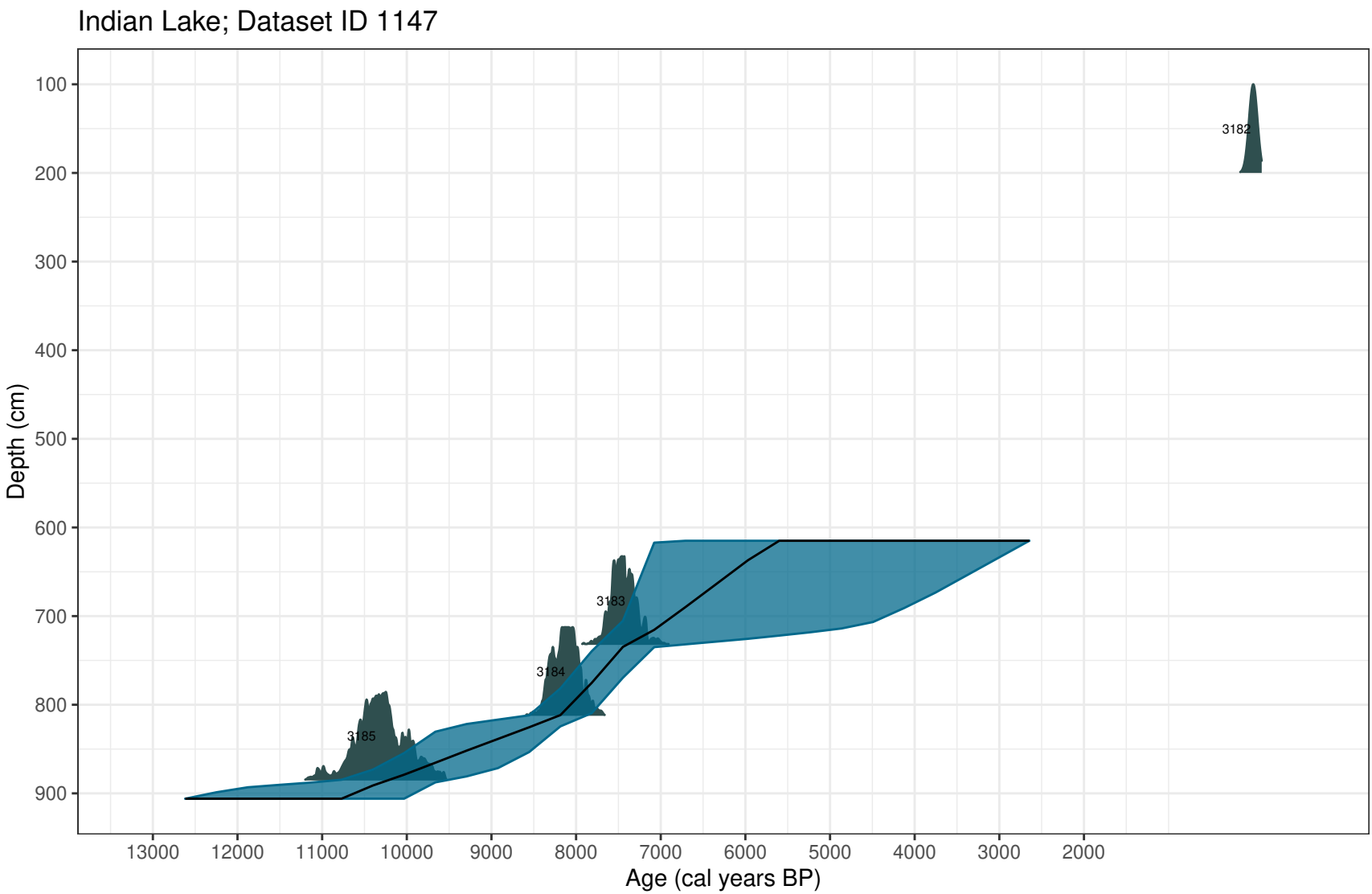
Indian Lake; Dataset ID 1147
Depth (cm)
100
200
300
400
500
600
700
800
900
3182
3183
3184
3185
13000
12000
11000
10000
9000
8000
7000
6000
5000
4000
3000
2000
Age (cal years BP)

Indian Prairie Fen; Dataset ID 1148

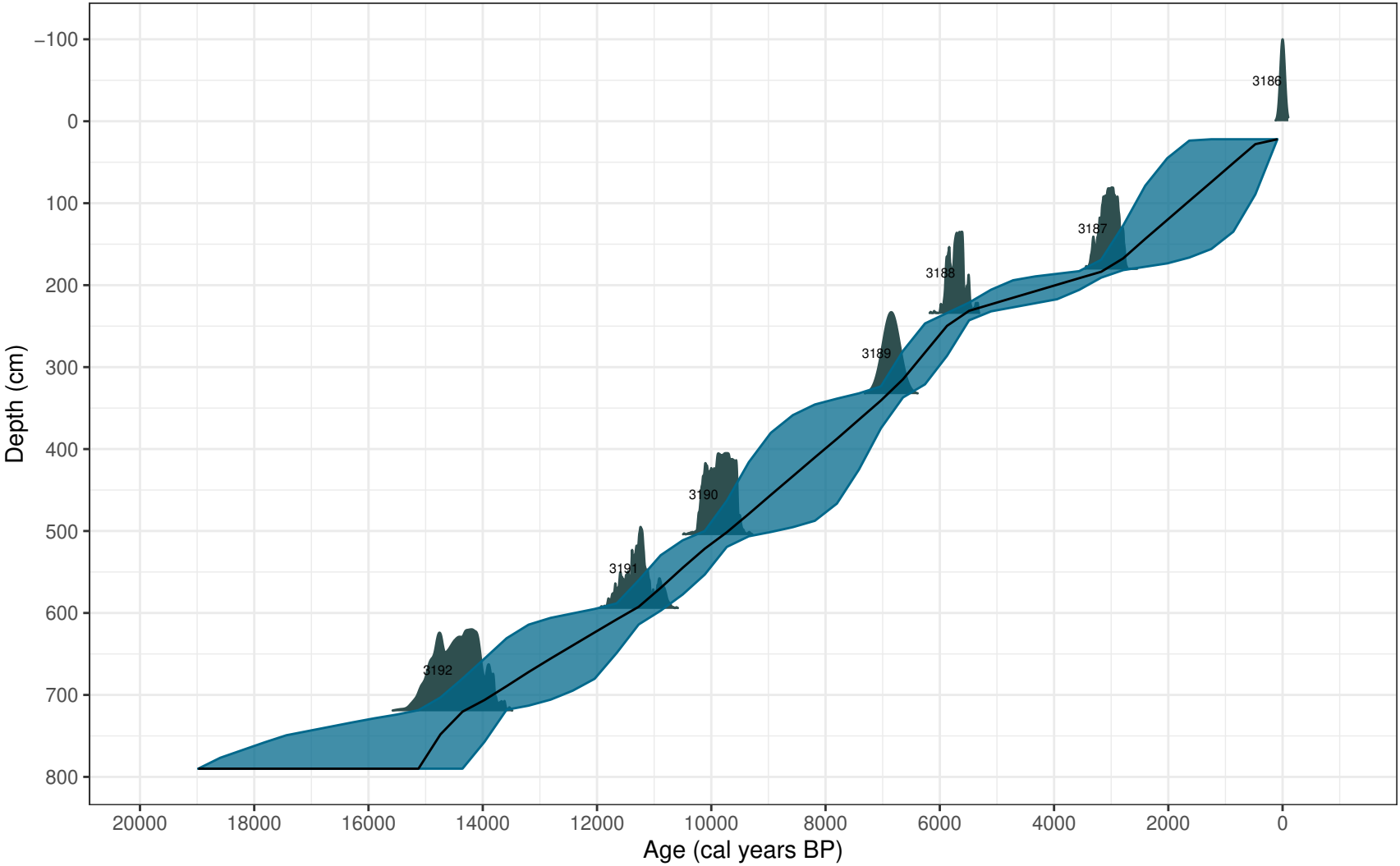

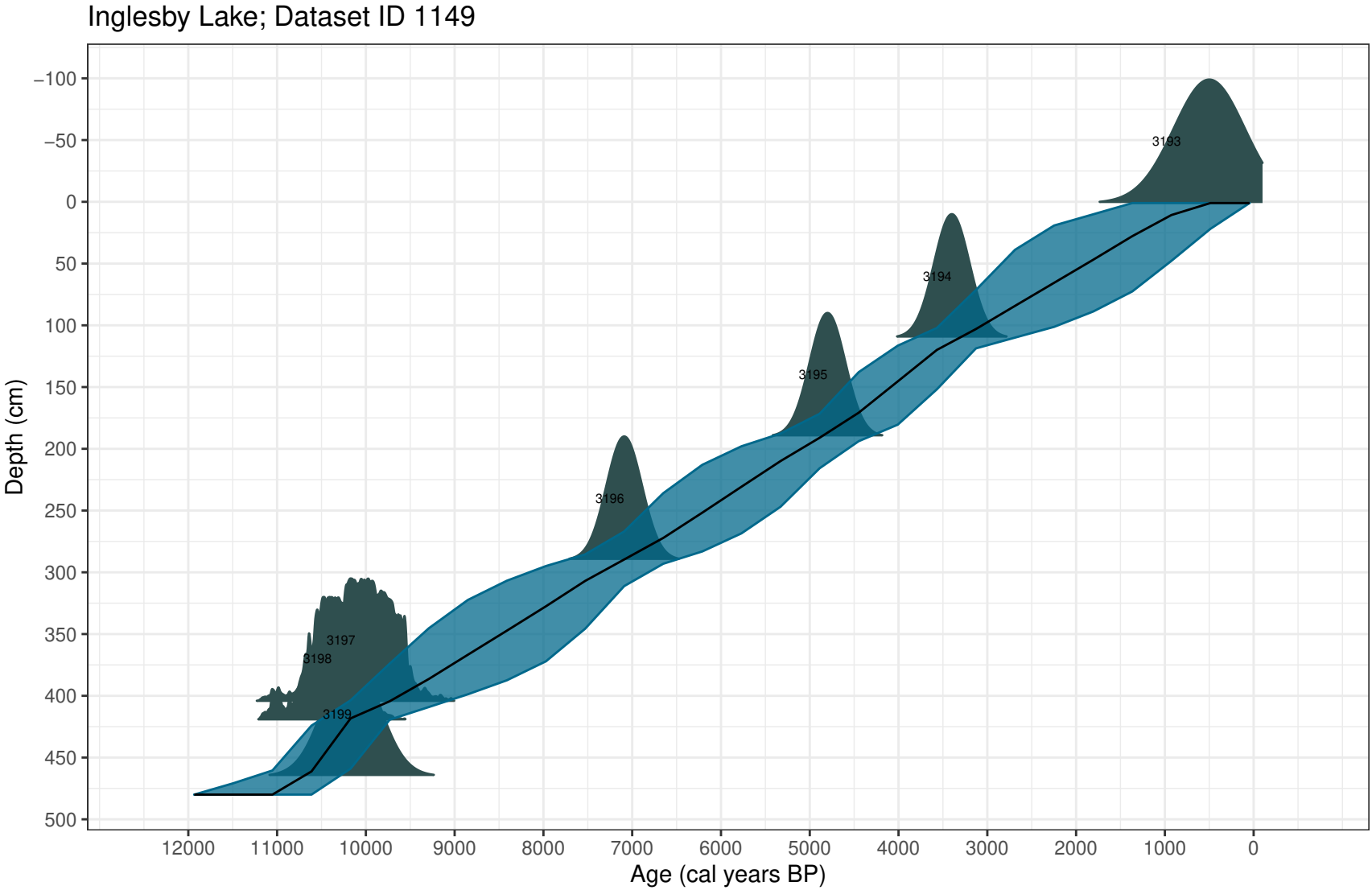
Inglesby Lake; Dataset ID 1149
Depth (cm)
−100
−50
0
50
100
150
200
250
300
350
400
450
500
12000
11000
10000
9000
8000
7000
6000
5000
4000
3000
2000
1000
0
Age (cal years BP)
3193
3194
3195
3196
3197
3198
3199

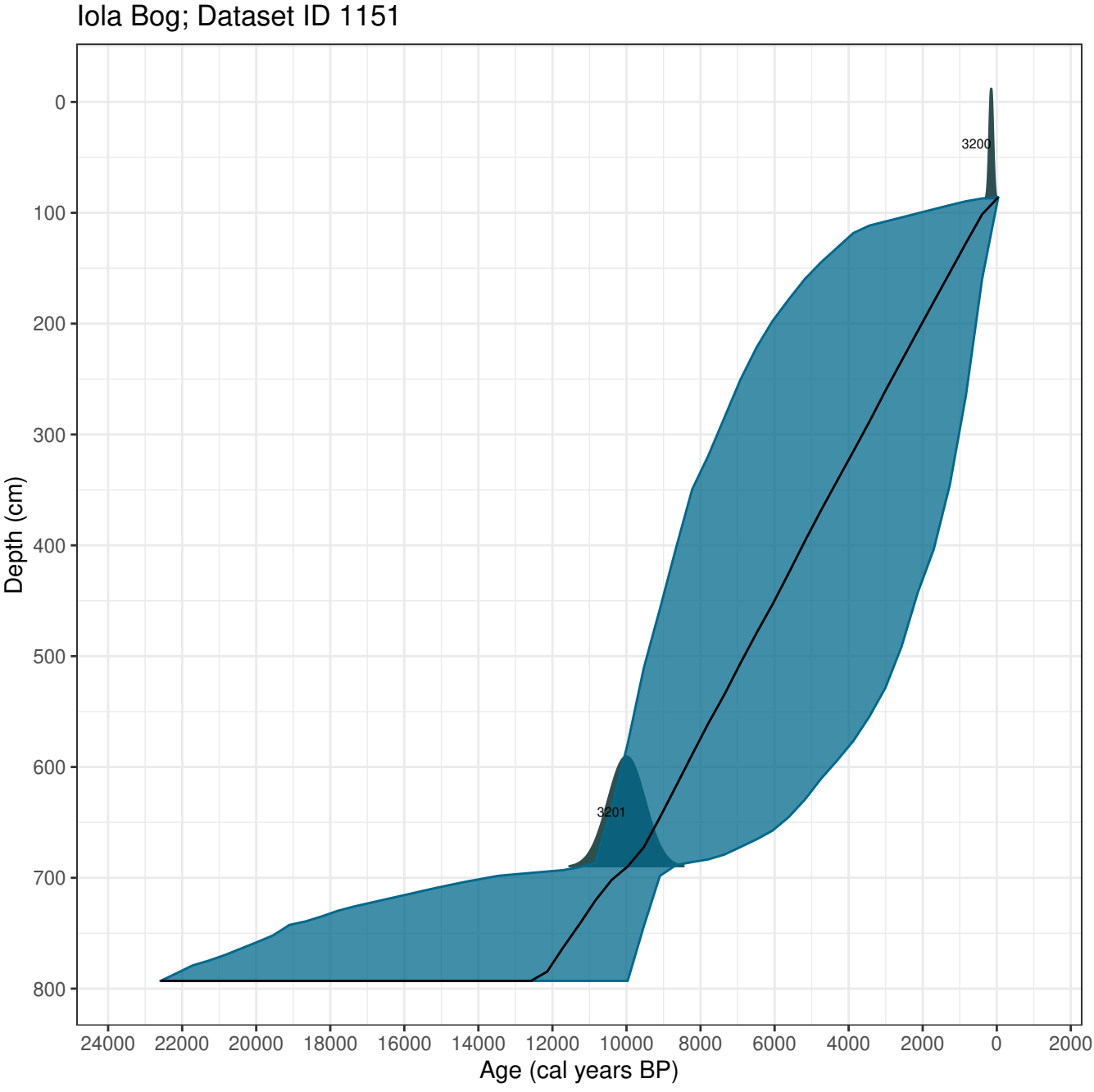
Iola Bog; Dataset ID 1151
Depth (cm)
0
100
200
300
400
500
600
700
800
3200
3201
24000
22000
20000
18000
16000
14000
12000
10000
8000
6000
4000
2000
0
2000
Age (cal years BP)

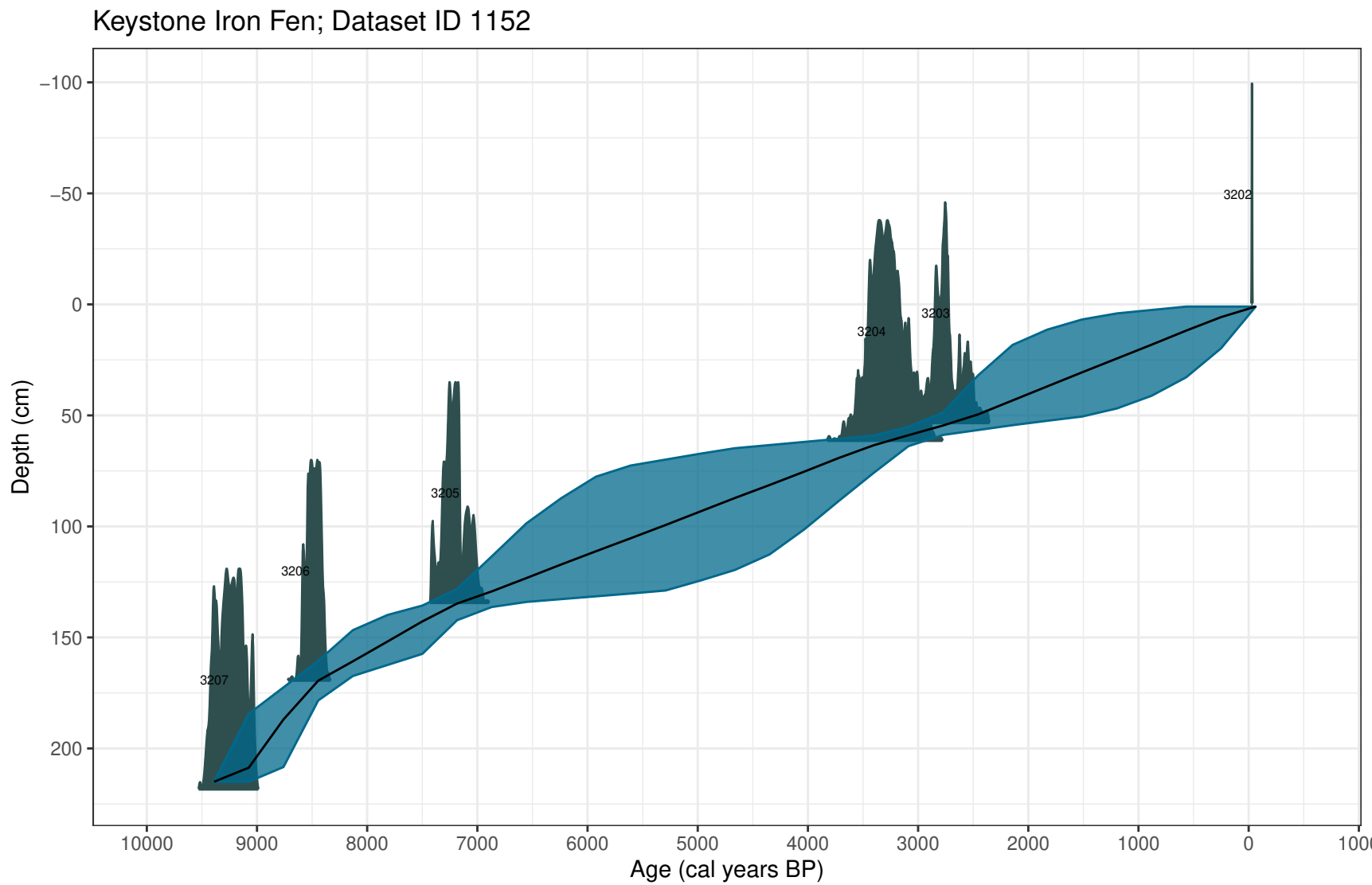
Keystone Iron Fen; Dataset ID 1152
Depth (cm)
−100
−50
0
50
100
150
200
Age (cal years BP)
10000
9000
8000
7000
6000
5000
4000
3000
2000
1000
0
3202
3203
3204
3205
3206
3207

Jack Lake; Dataset ID 1157

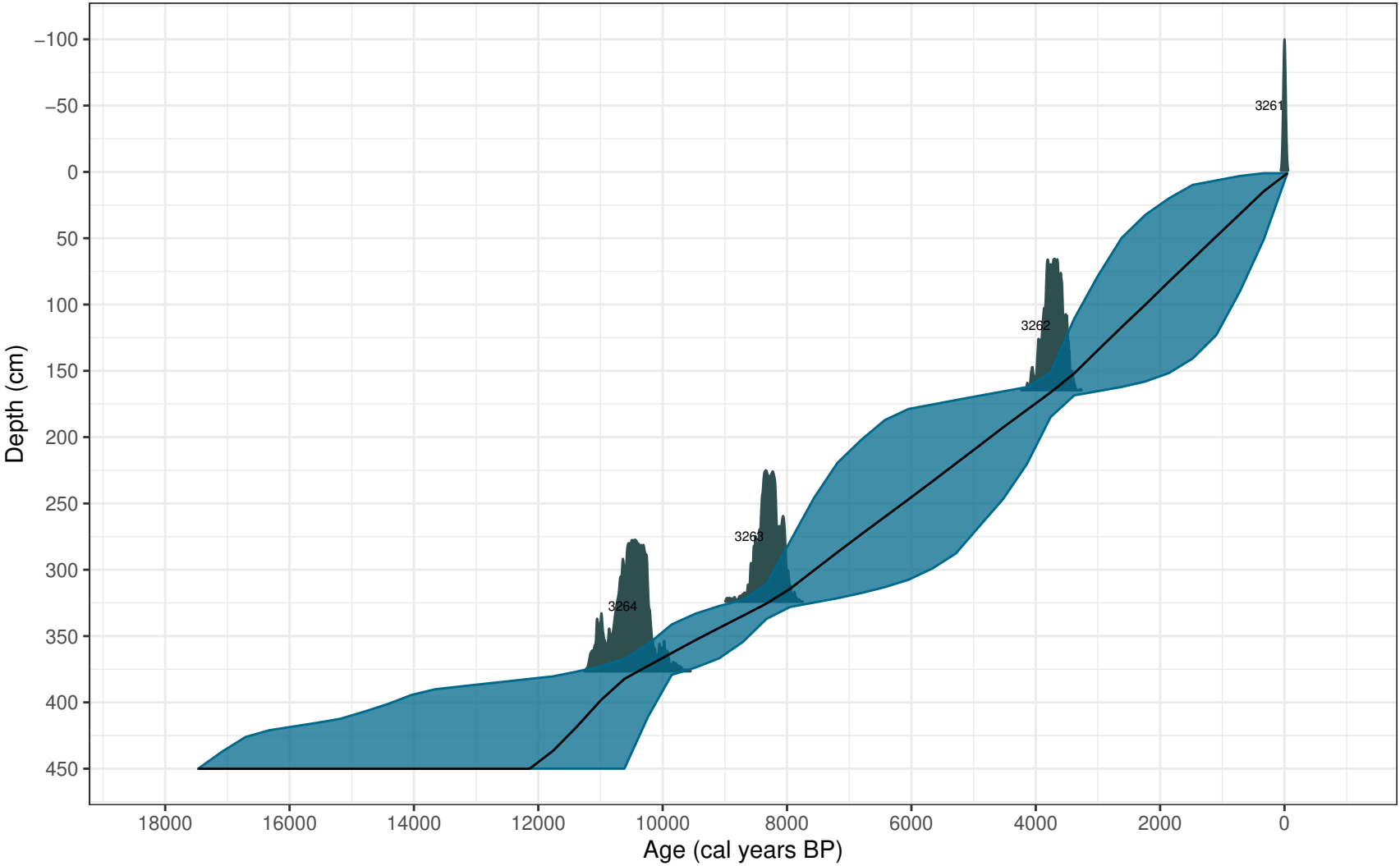

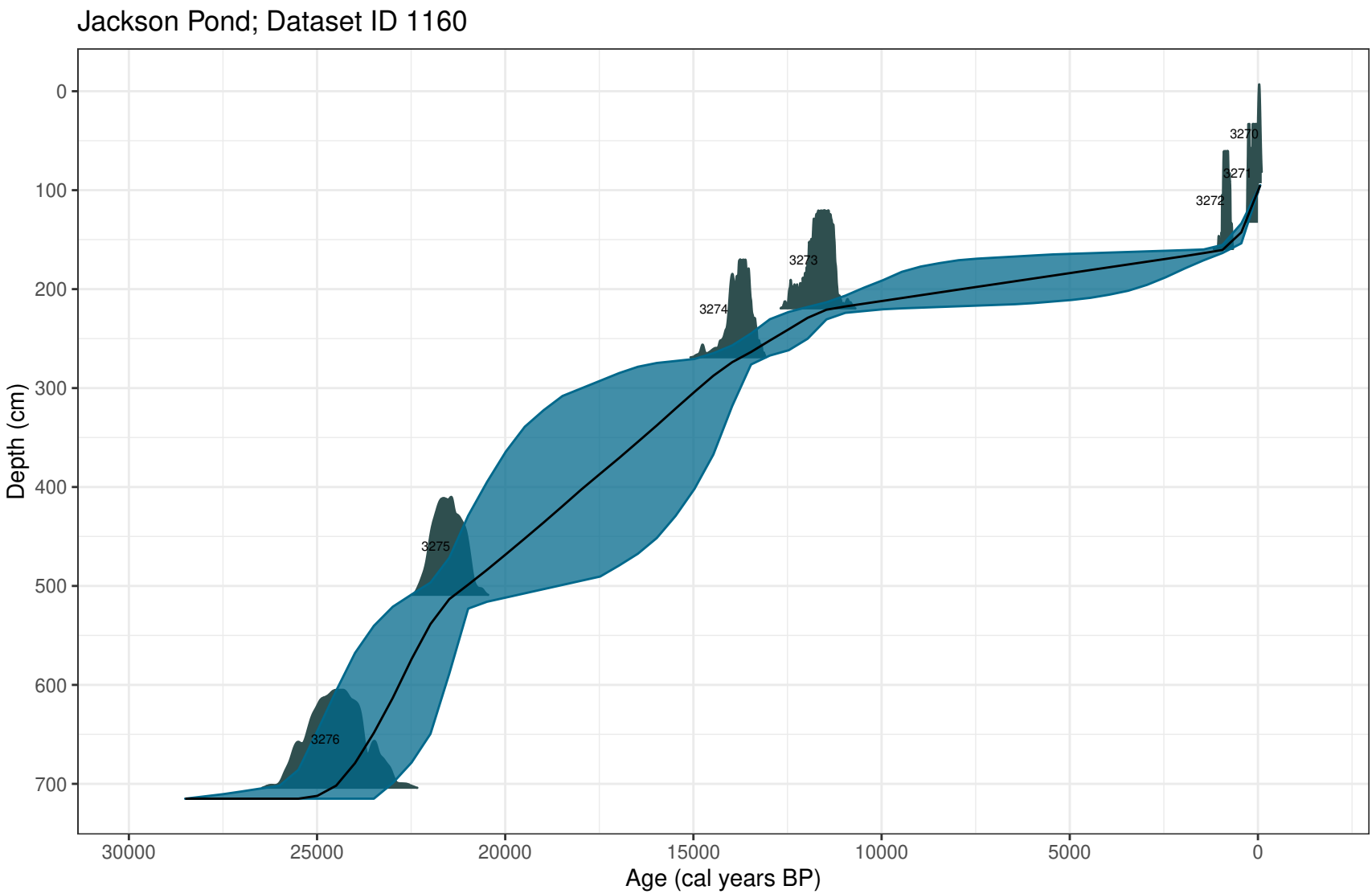
Jackson Pond; Dataset ID 1160
Depth (cm)
0
100
200
300
400
500
600
700
Age (cal years BP)
30000
25000
20000
15000
10000
5000
0
3270
3271
3272
3273
3274
3275
3276

Jacob Lake; Dataset ID 1162

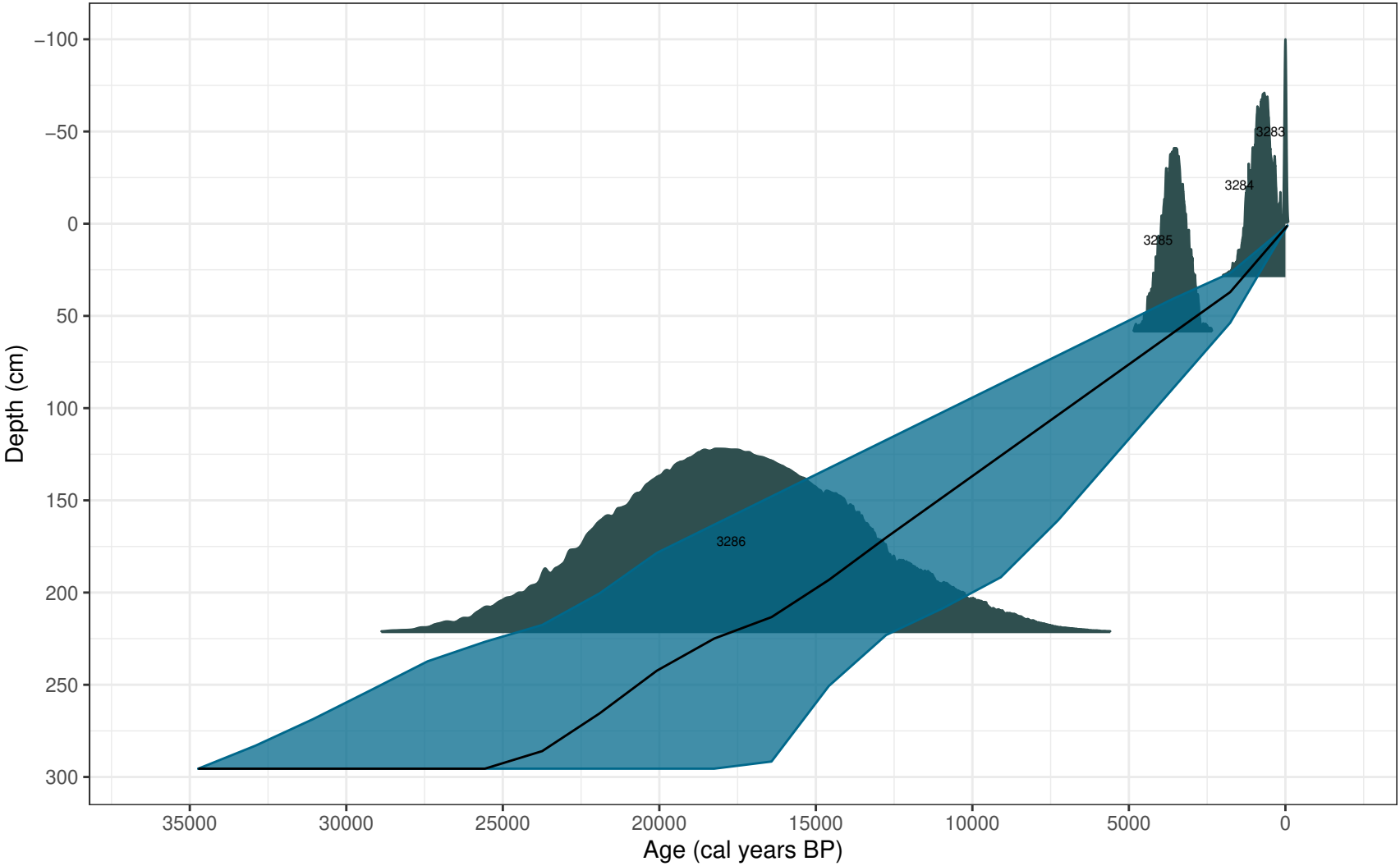

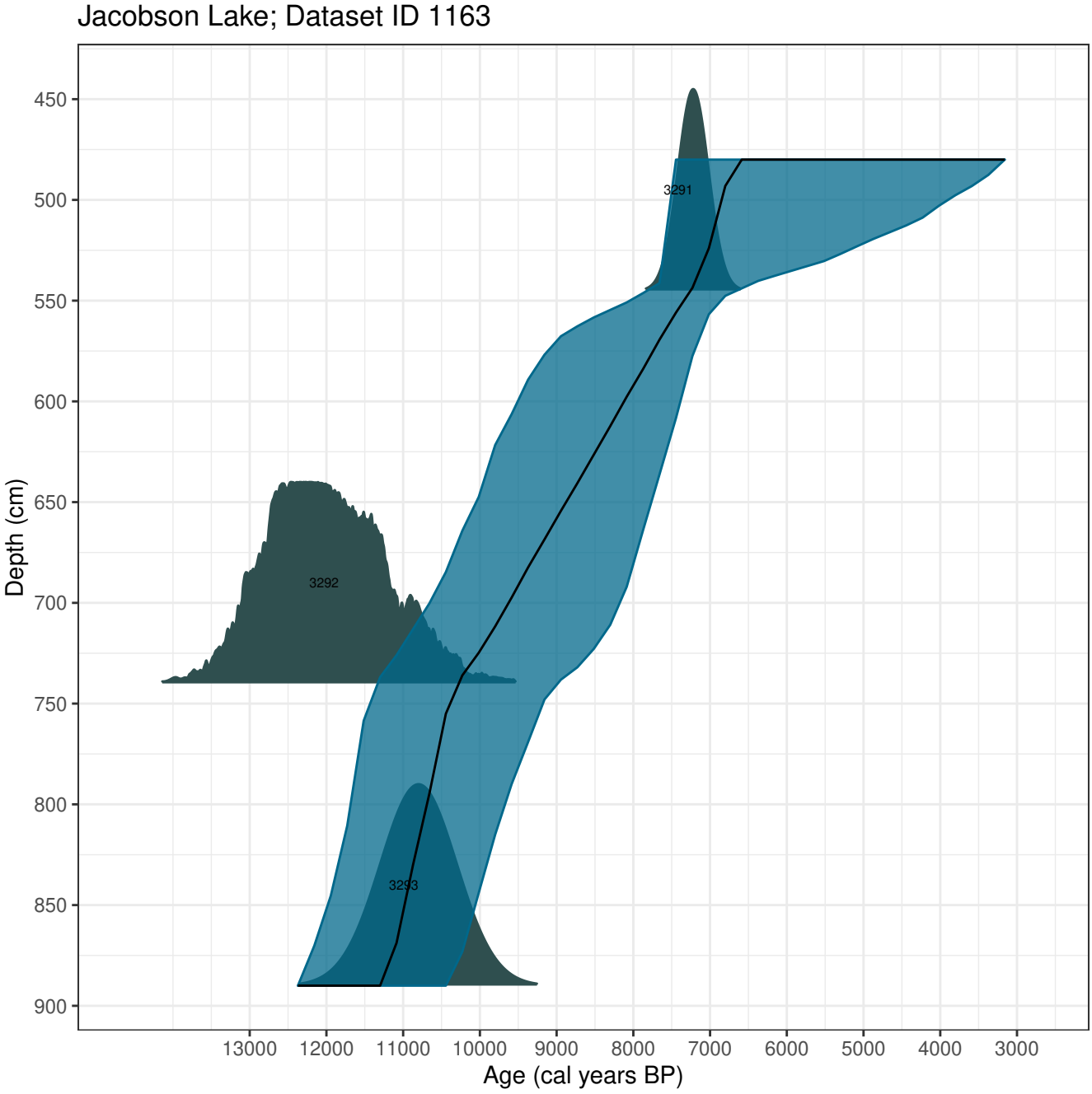
Jacobson Lake; Dataset ID 1163
Depth (cm)
450
500
550
600
650
700
750
800
850
900
3291
3292
3293
13000
12000
11000
10000
9000
8000
7000
6000
5000
4000
3000
Age (cal years BP)

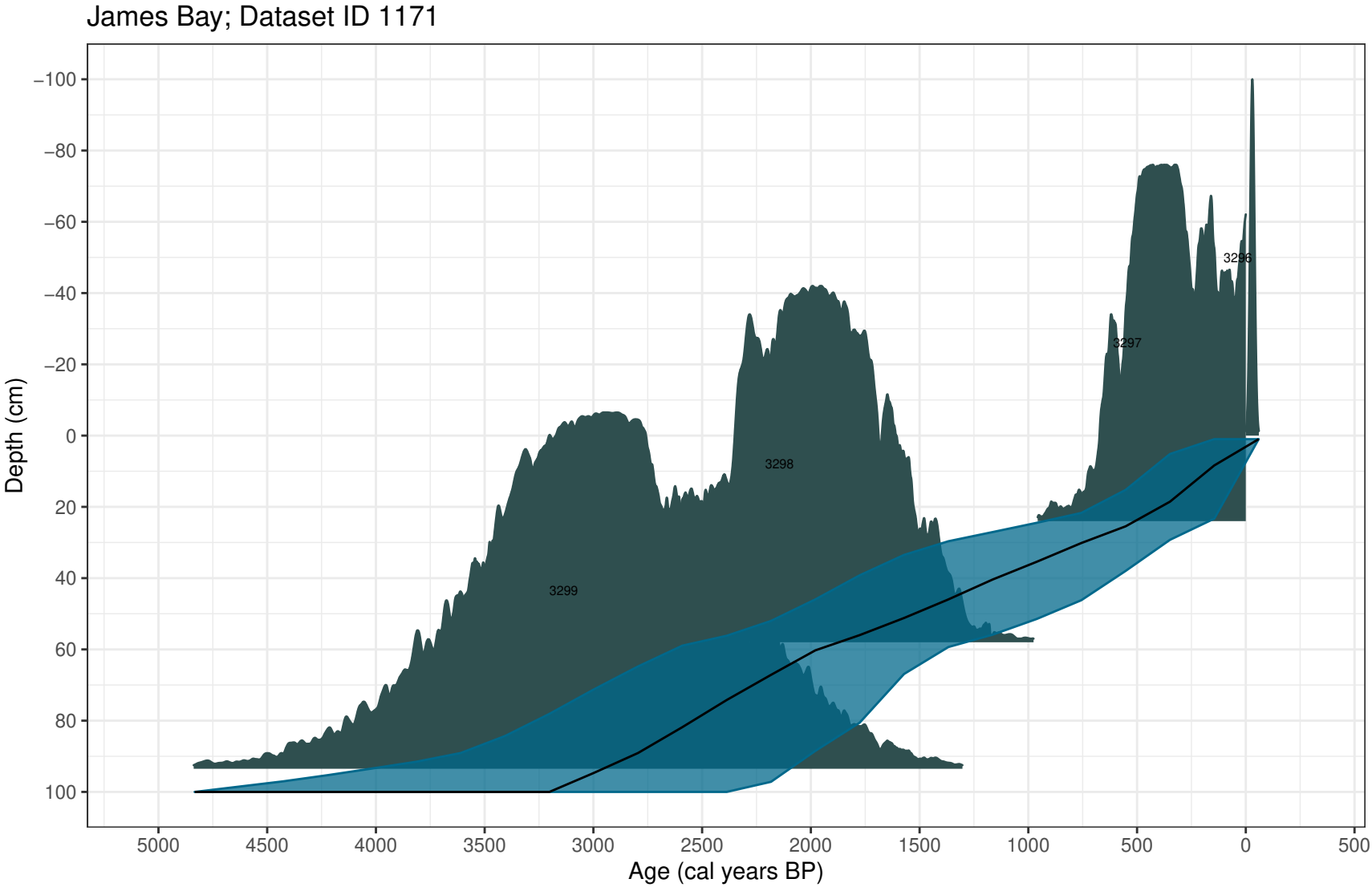
James Bay; Dataset ID 1171
Depth (cm)
−100
−80
−60
−40
−20
0
20
40
60
80
100
3299
3298
3297
3296
5000
4500
4000
3500
3000
2500
2000
1500
1000
500
0
500
Age (cal years BP)

Saint–Jean Ile d'Orléans; Dataset ID 1254

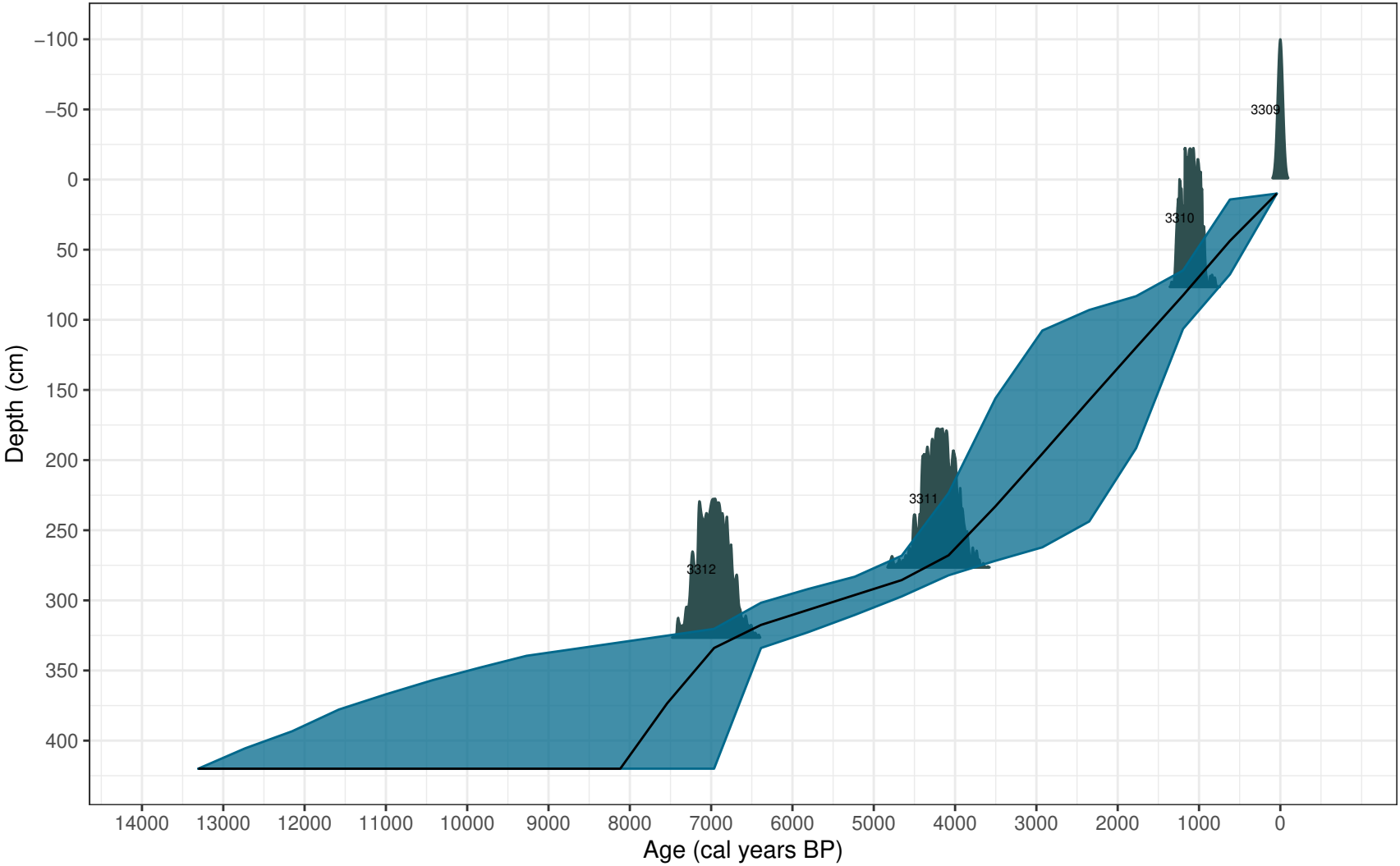

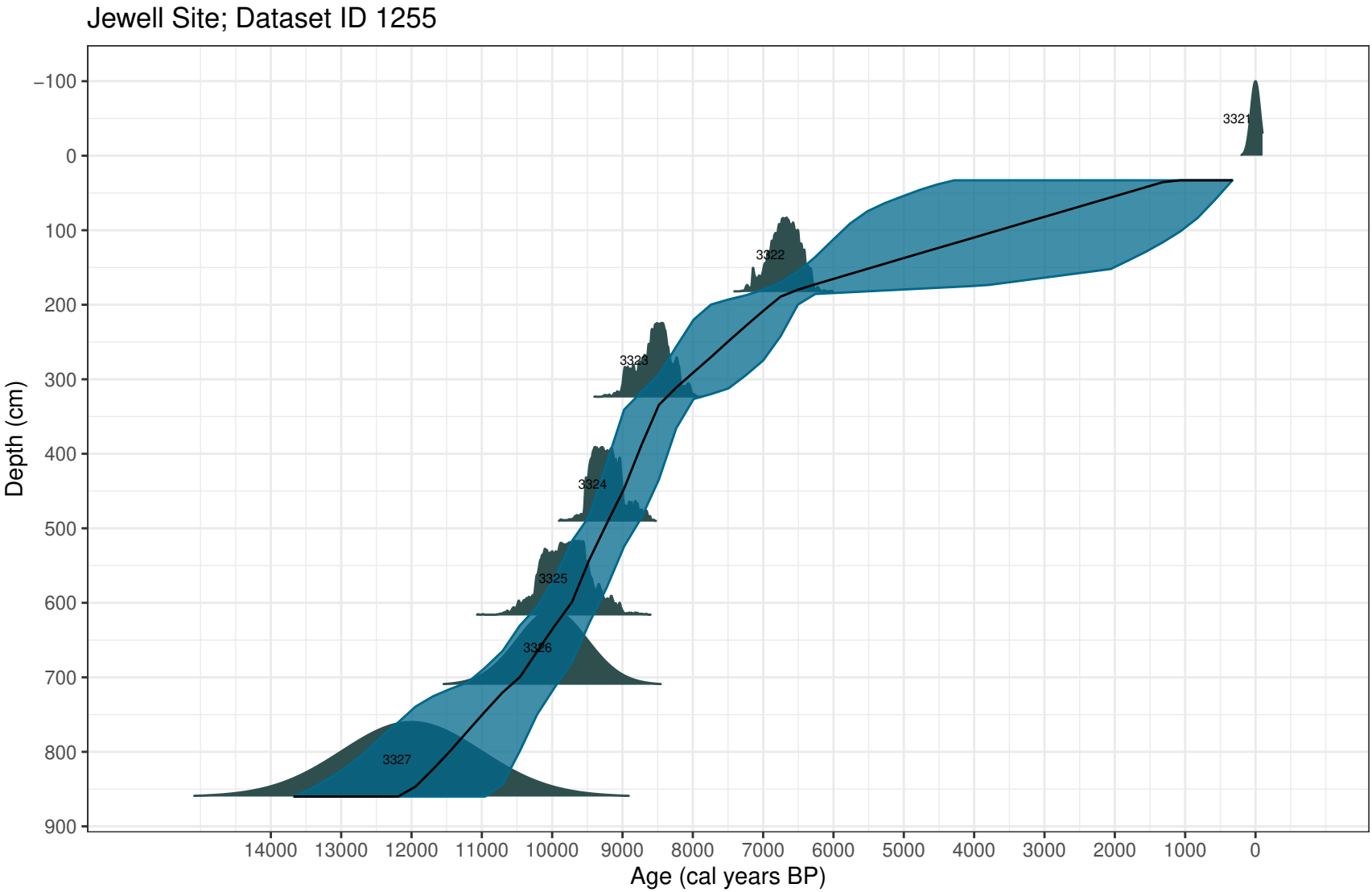
Jewell Site; Dataset ID 1255
Depth (cm)
−100
0
100
200
300
400
500
600
700
800
900
3321
3322
3323
3324
3325
3326
3327
14000
13000
12000
11000
10000
9000
8000
7000
6000
5000
4000
3000
2000
1000
0
Age (cal years BP)

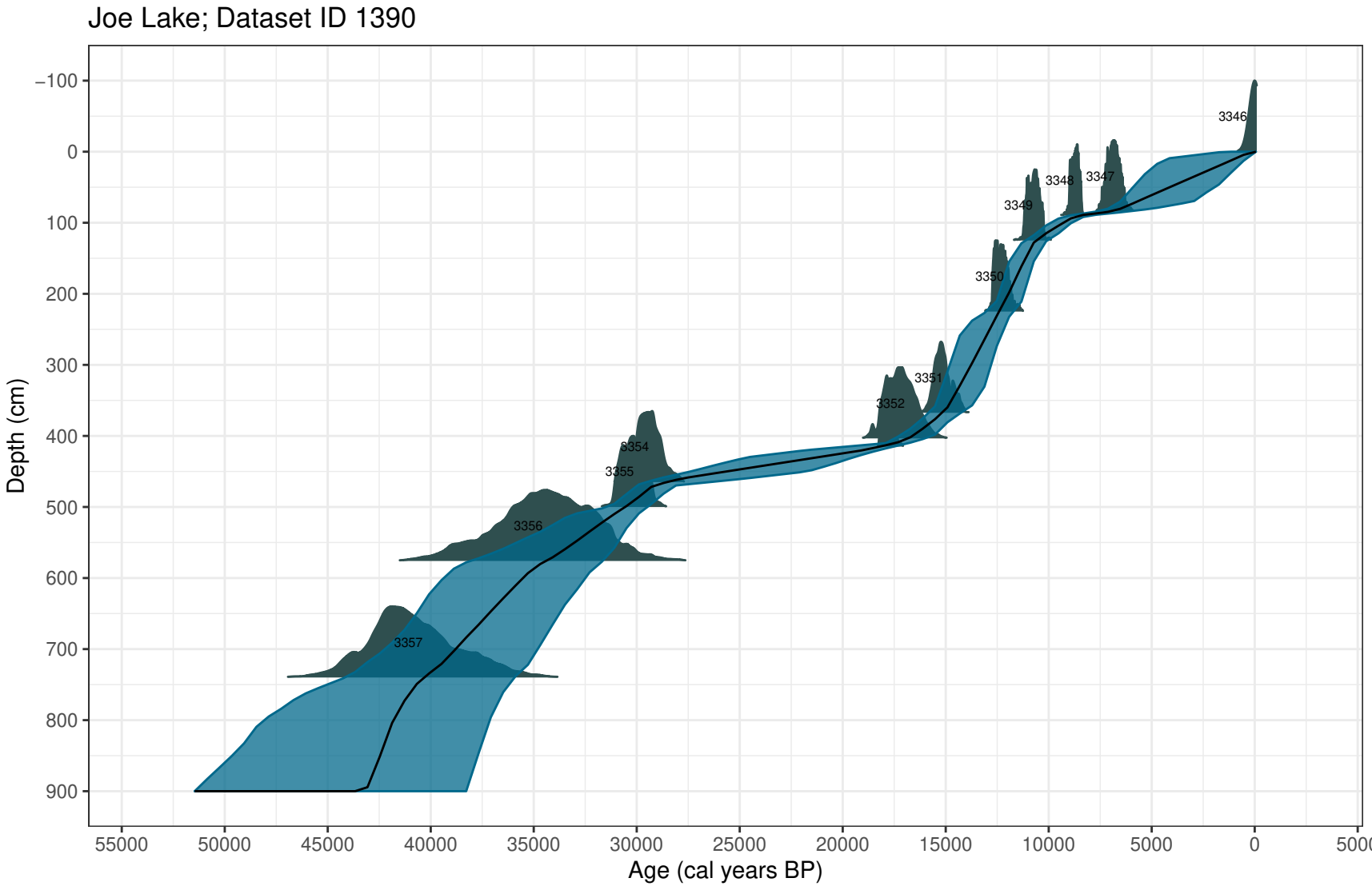
Joe Lake; Dataset ID 1390
Depth (cm)
Age (cal years BP)
−100
0
100
200
300
400
500
600
700
800
900
55000
50000
45000
40000
35000
30000
25000
20000
15000
10000
5000
0
5000
3346
3347
3348
3349
3350
3351
3352
3354
3355
3356
3357

Joes Pond; Dataset ID 1391

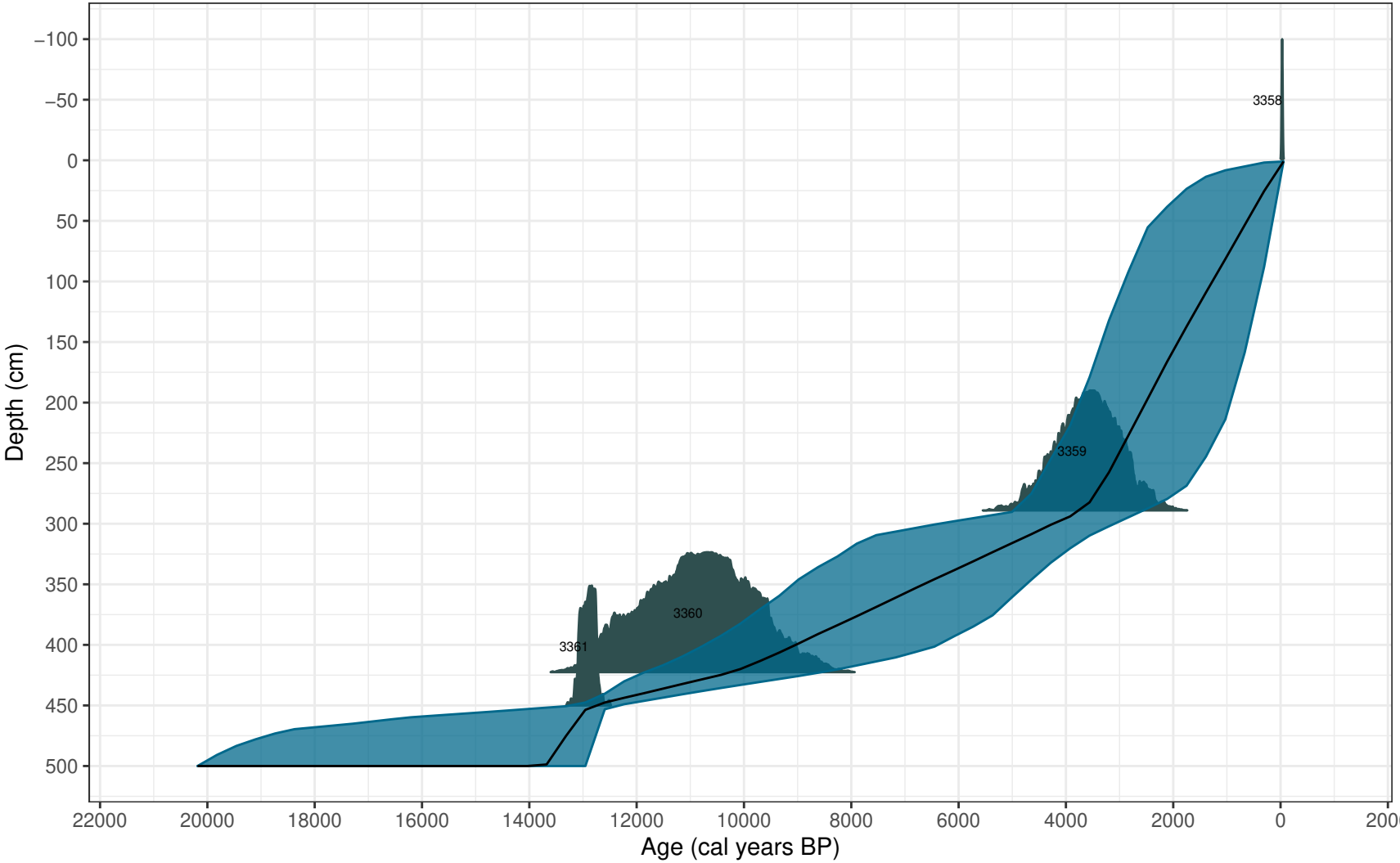

Johnson River Bog; Dataset ID 1392

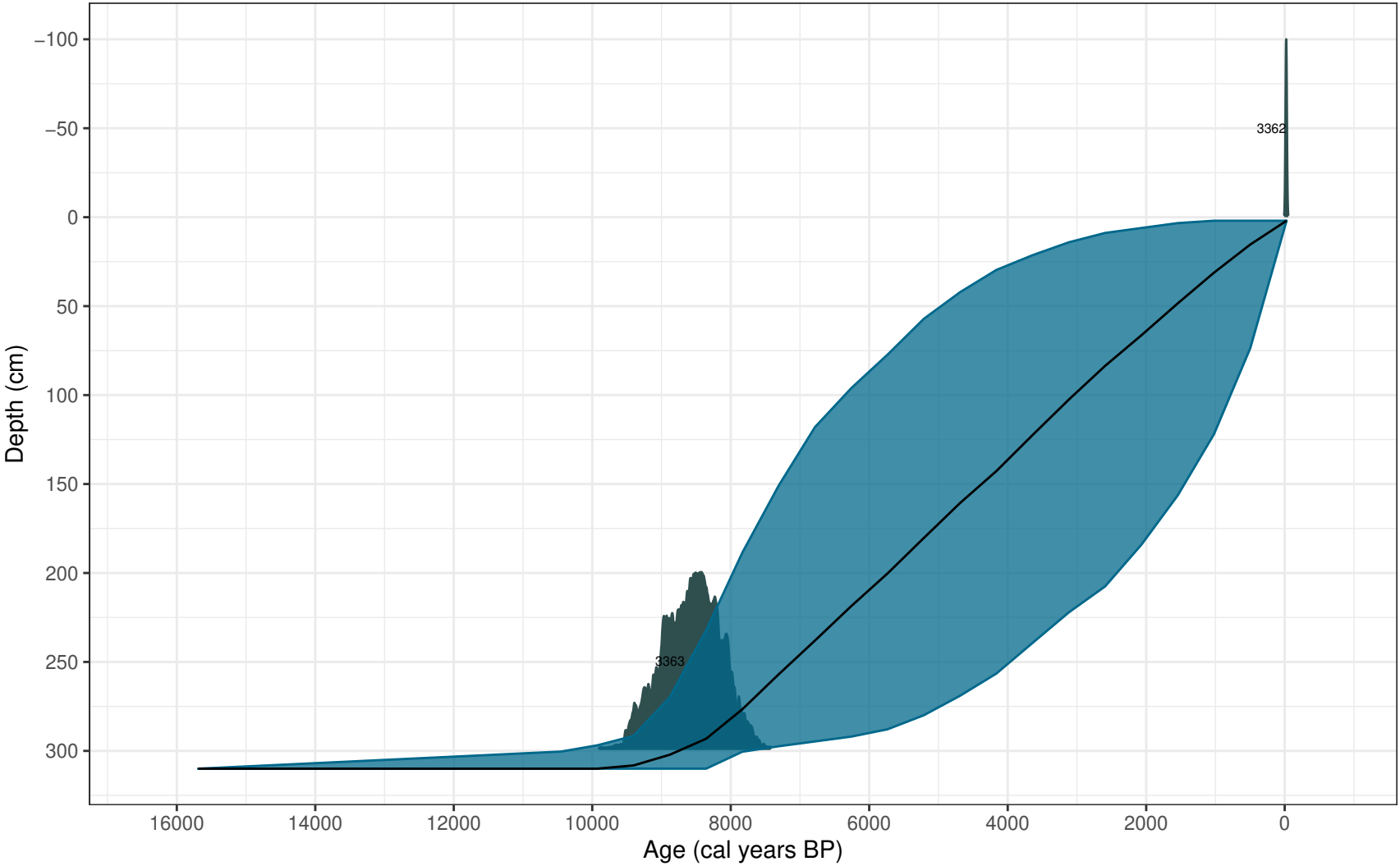

Tourbière du lac Joncas; Dataset ID 1393

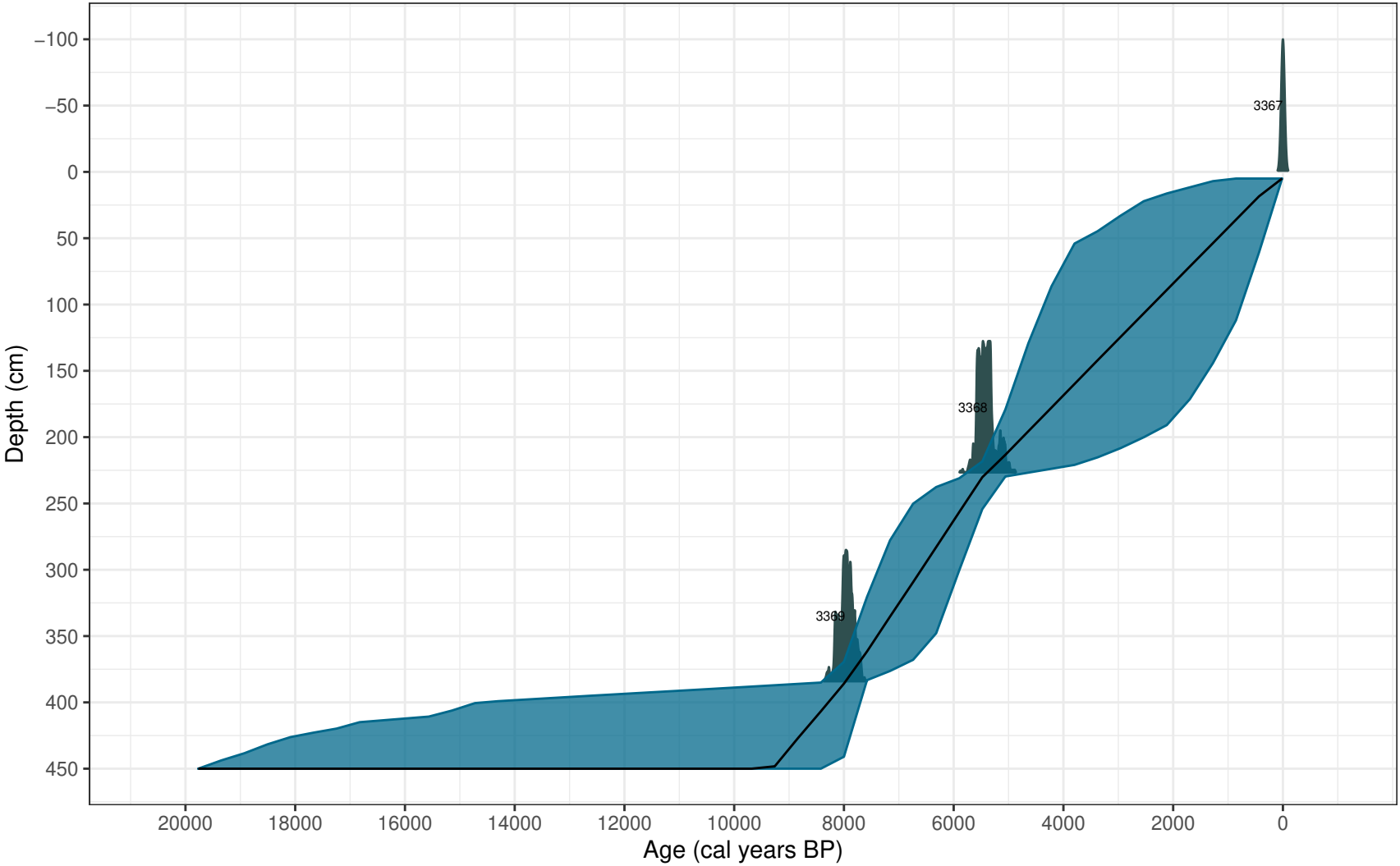

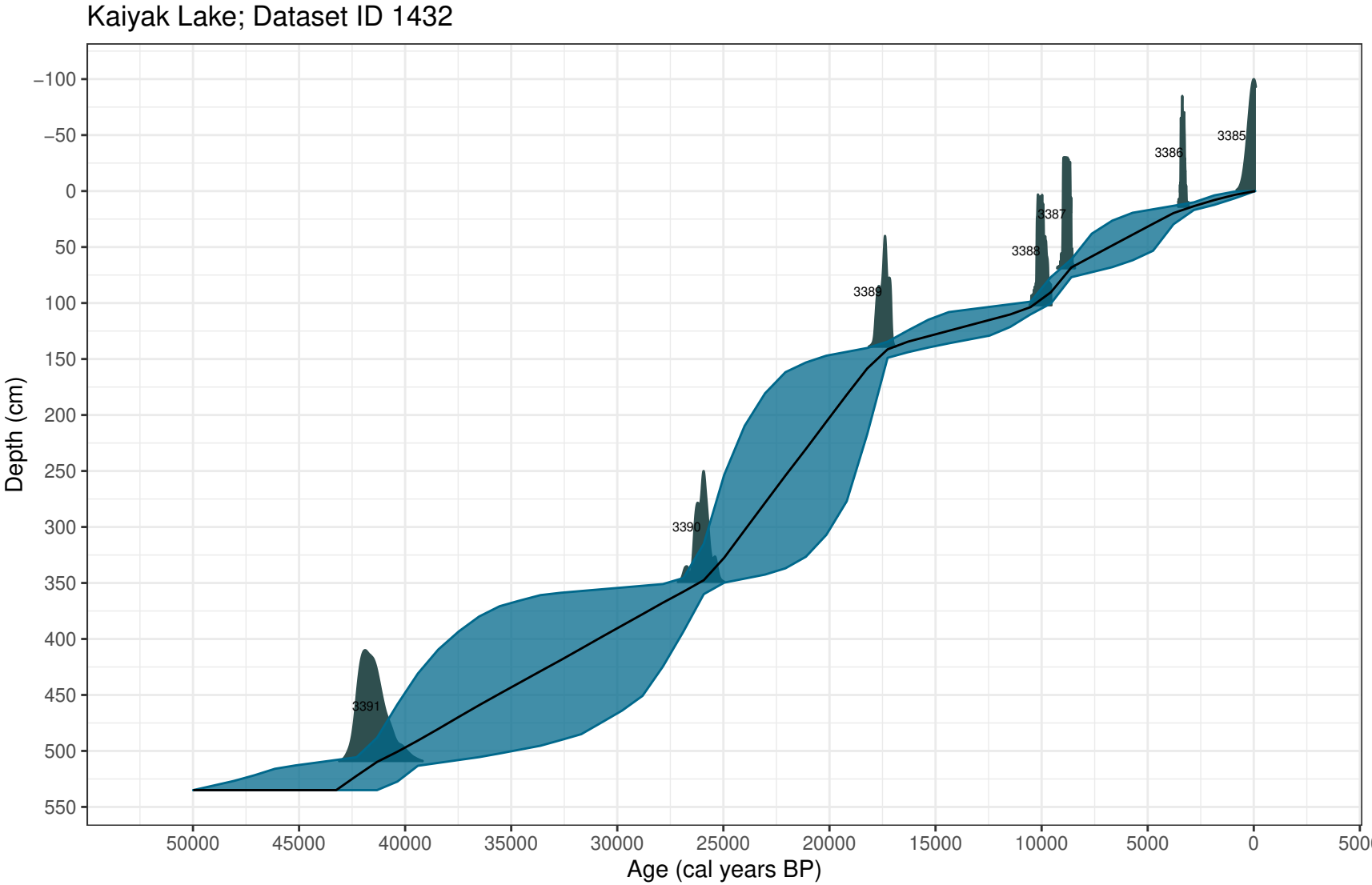
Kaiyak Lake; Dataset ID 1432
Depth (cm)
−100
−50
0
50
100
150
200
250
300
350
400
450
500
550
Age (cal years BP)
50000
45000
40000
35000
30000
25000
20000
15000
10000
5000
0
3385
3386
3387
3388
3389
3390
3391

Kanaaupscow; Dataset ID 1437

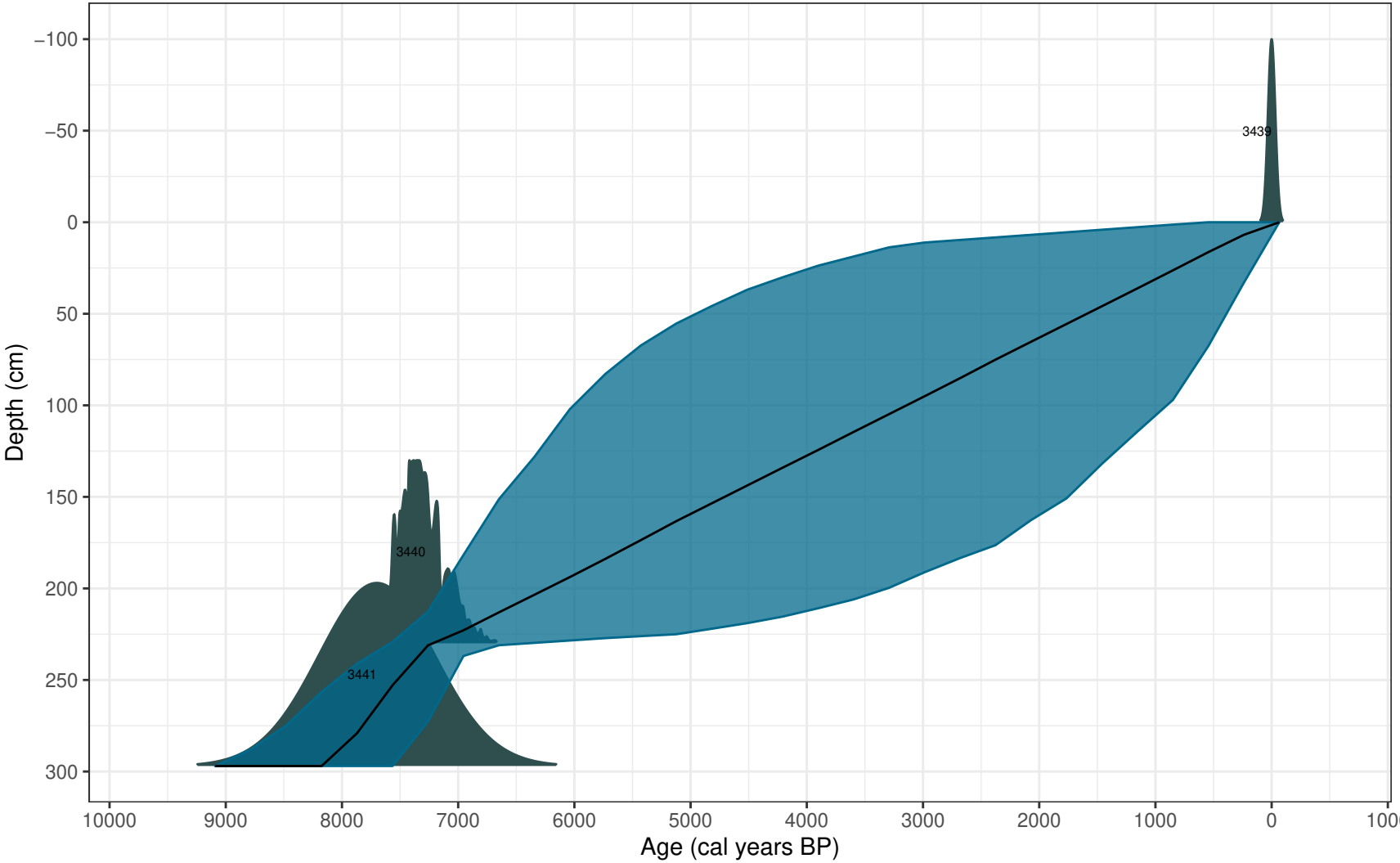

Keele Lake; Dataset ID 1445

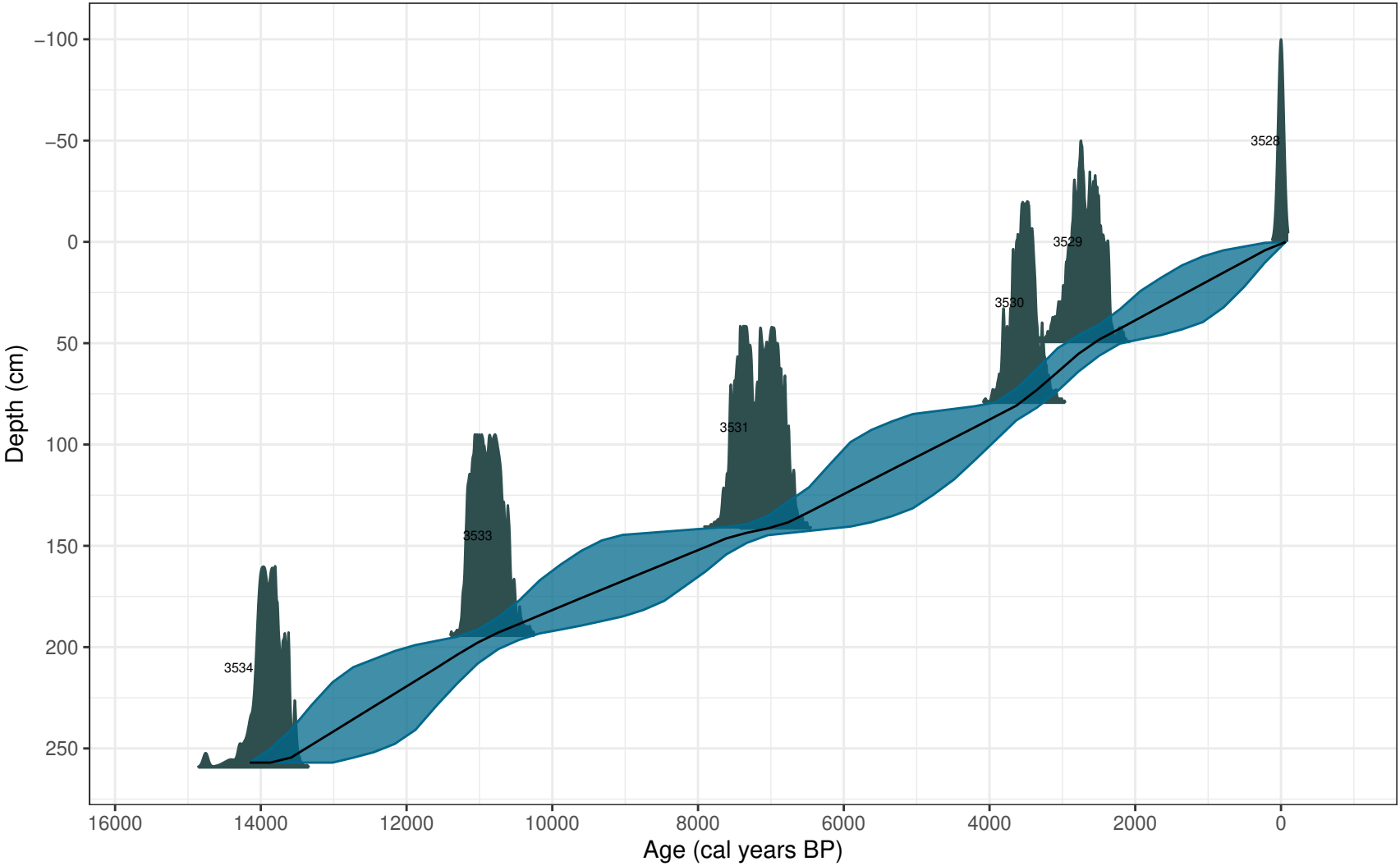

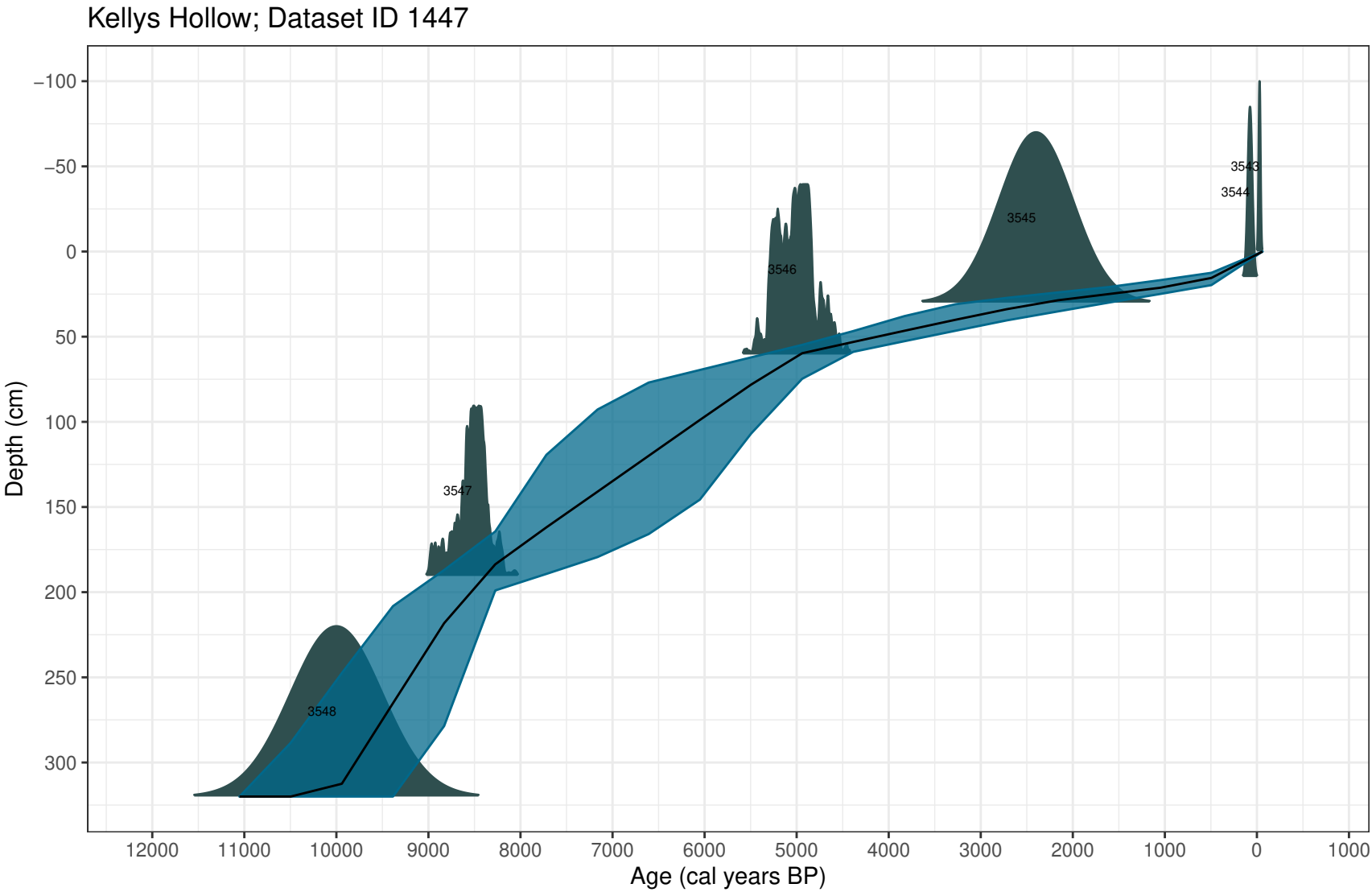
Kellys Hollow; Dataset ID 1447
Depth (cm)
−100
−50
0
50
100
150
200
250
300
Age (cal years BP)
12000
11000
10000
9000
8000
7000
6000
5000
4000
3000
2000
1000
0
1000
3543
3544
3545
3546
3547
3548

Kellners Lake; Dataset ID 1448

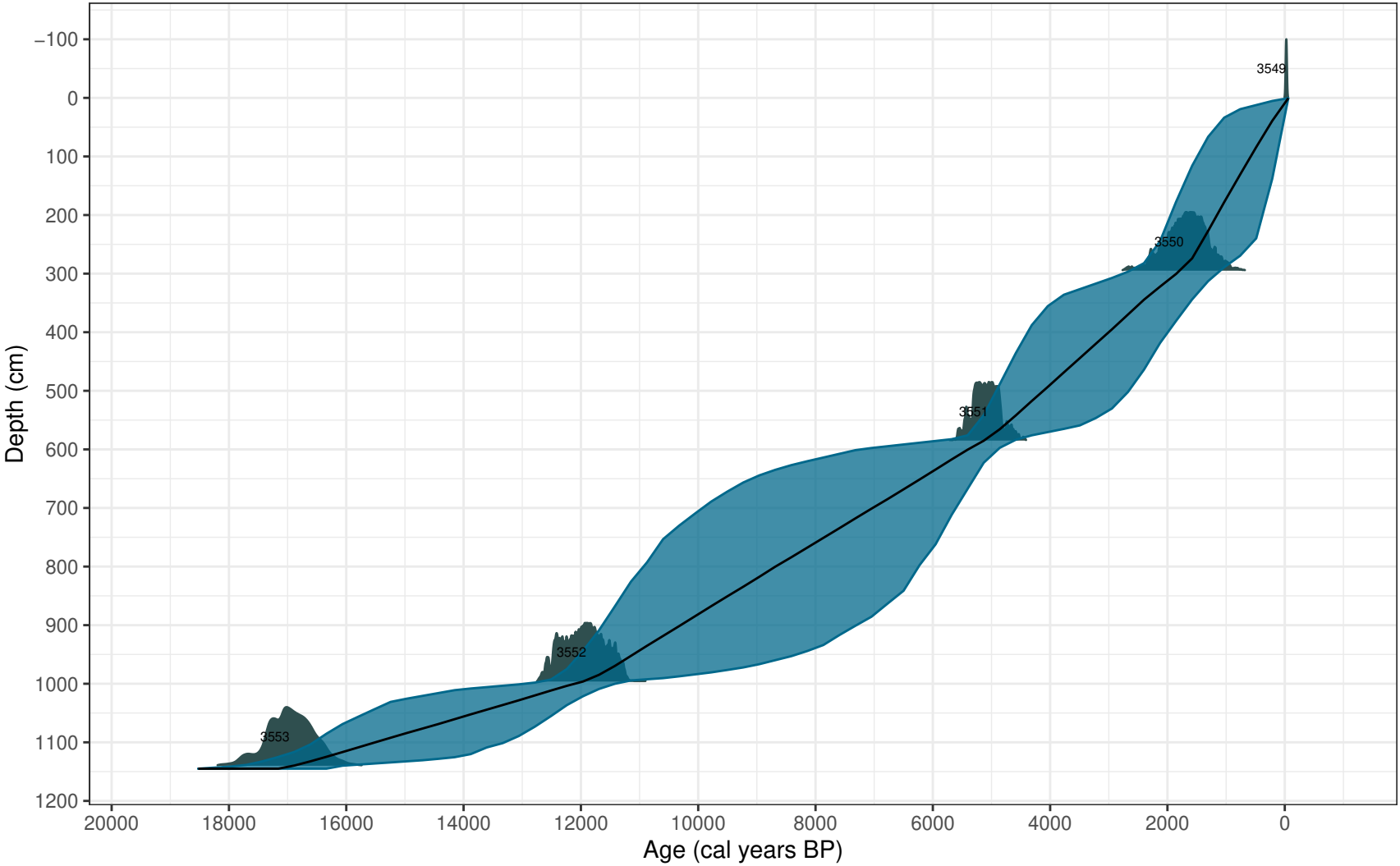

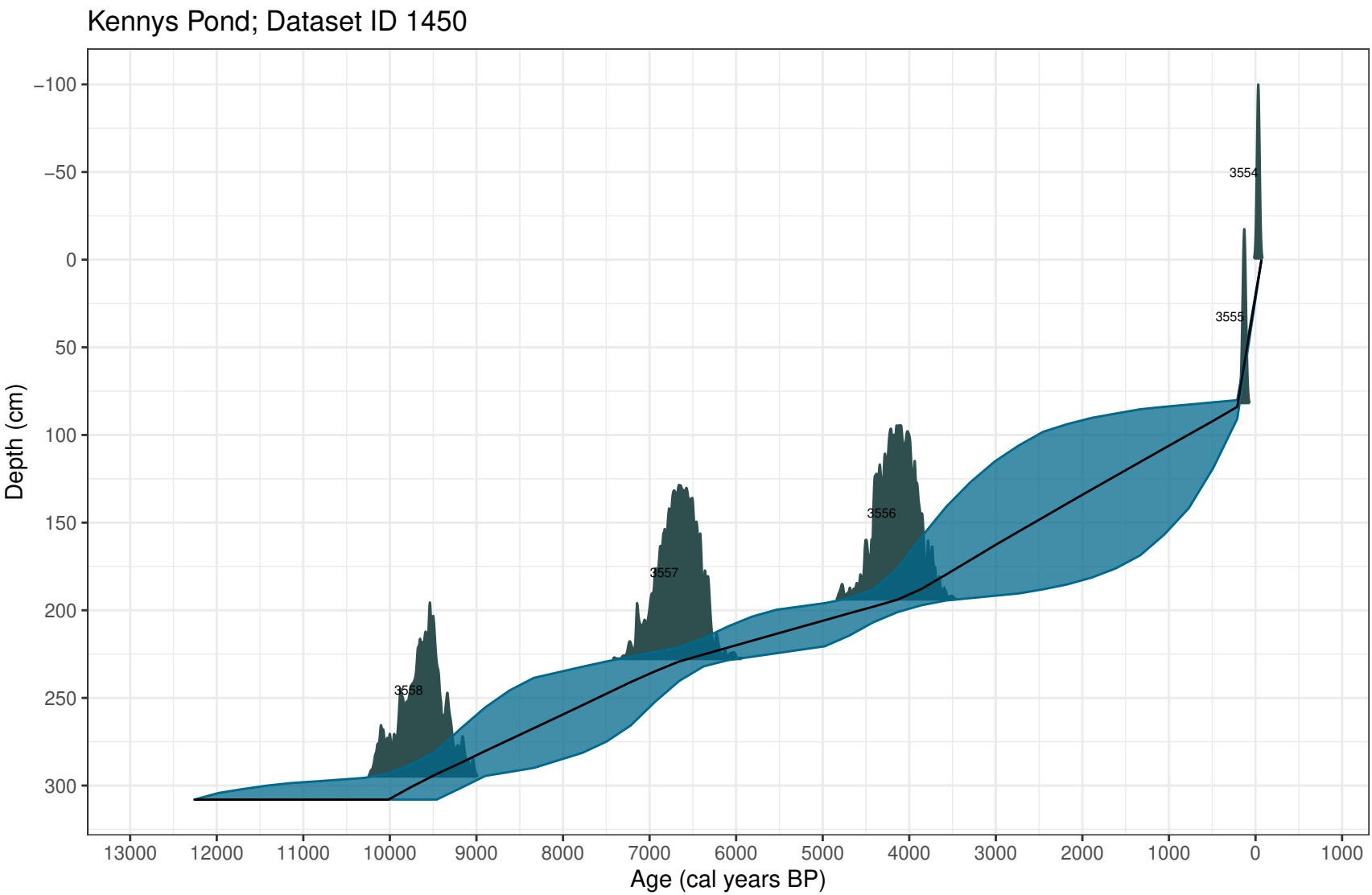
Kennys Pond; Dataset ID 1450
Depth (cm)
−100
−50
0
50
100
150
200
250
300
3554
3555
3556
3557
3558
13000
12000
11000
10000
9000
8000
7000
6000
5000
4000
3000
2000
1000
0
1000
Age (cal years BP)

Lac Kénogami; Dataset ID 1451

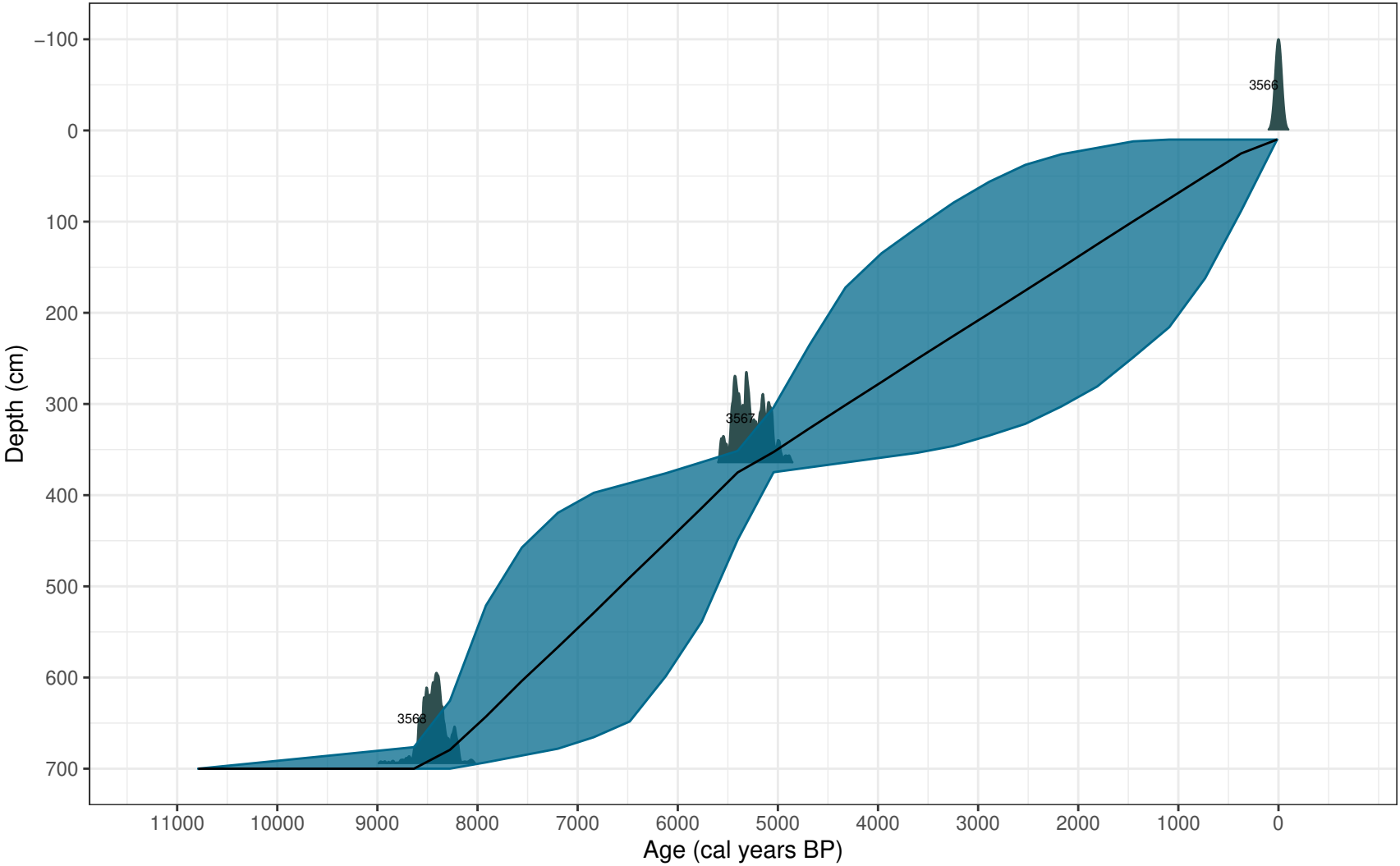

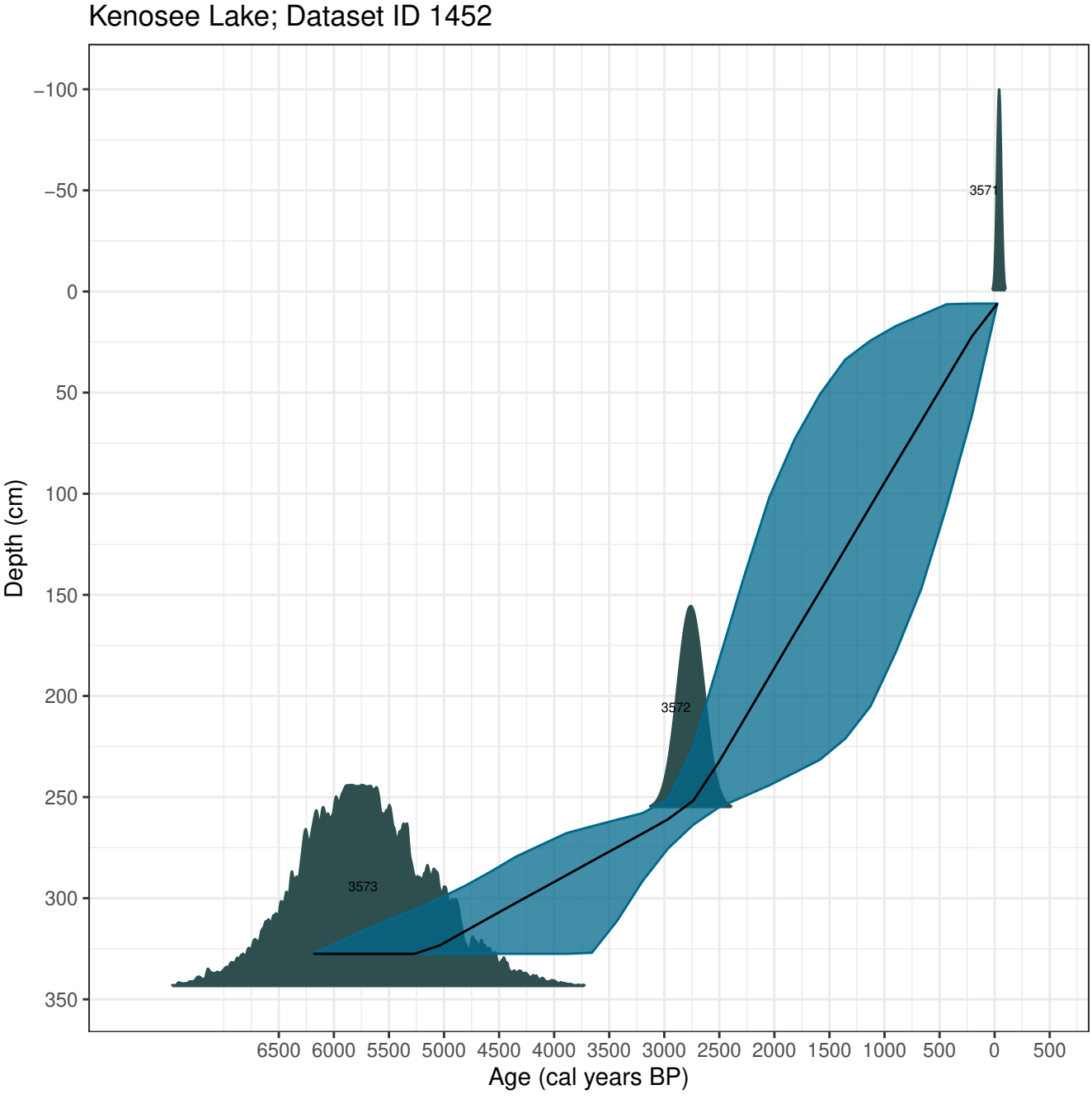
Kenosee Lake; Dataset ID 1452
Depth (cm)
−100
−50
0
50
100
150
200
250
300
350
3571
3572
3573
6500 6000 5500 5000 4500 4000 3500 3000 2500 2000 1500 1000 500 0 500
Age (cal years BP)

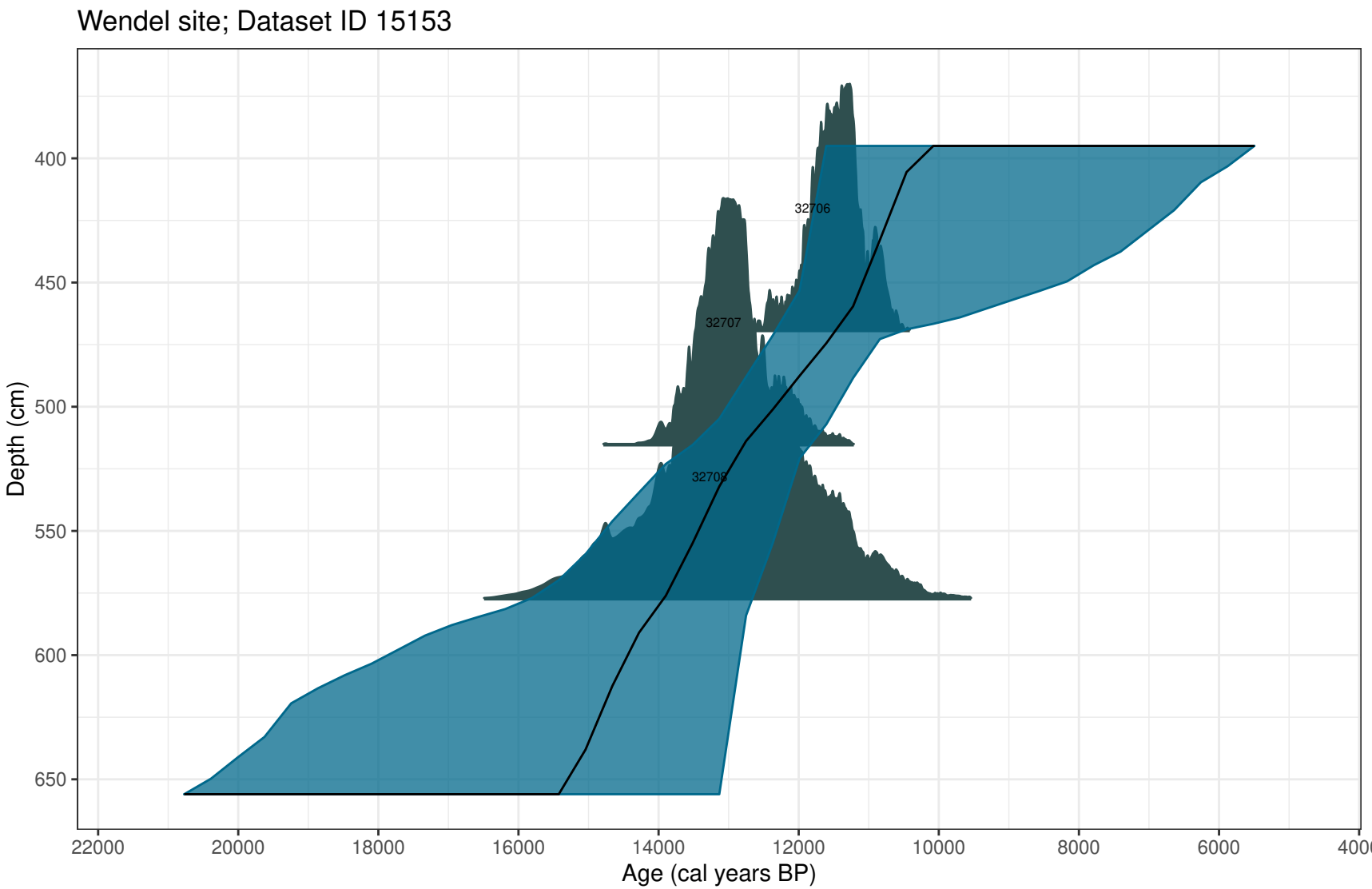
Wendel site; Dataset ID 15153
32706
32707
32708
Depth (cm)
400
450
500
550
600
650
22000
20000
18000
16000
14000
12000
10000
8000
6000
Age (cal years BP)

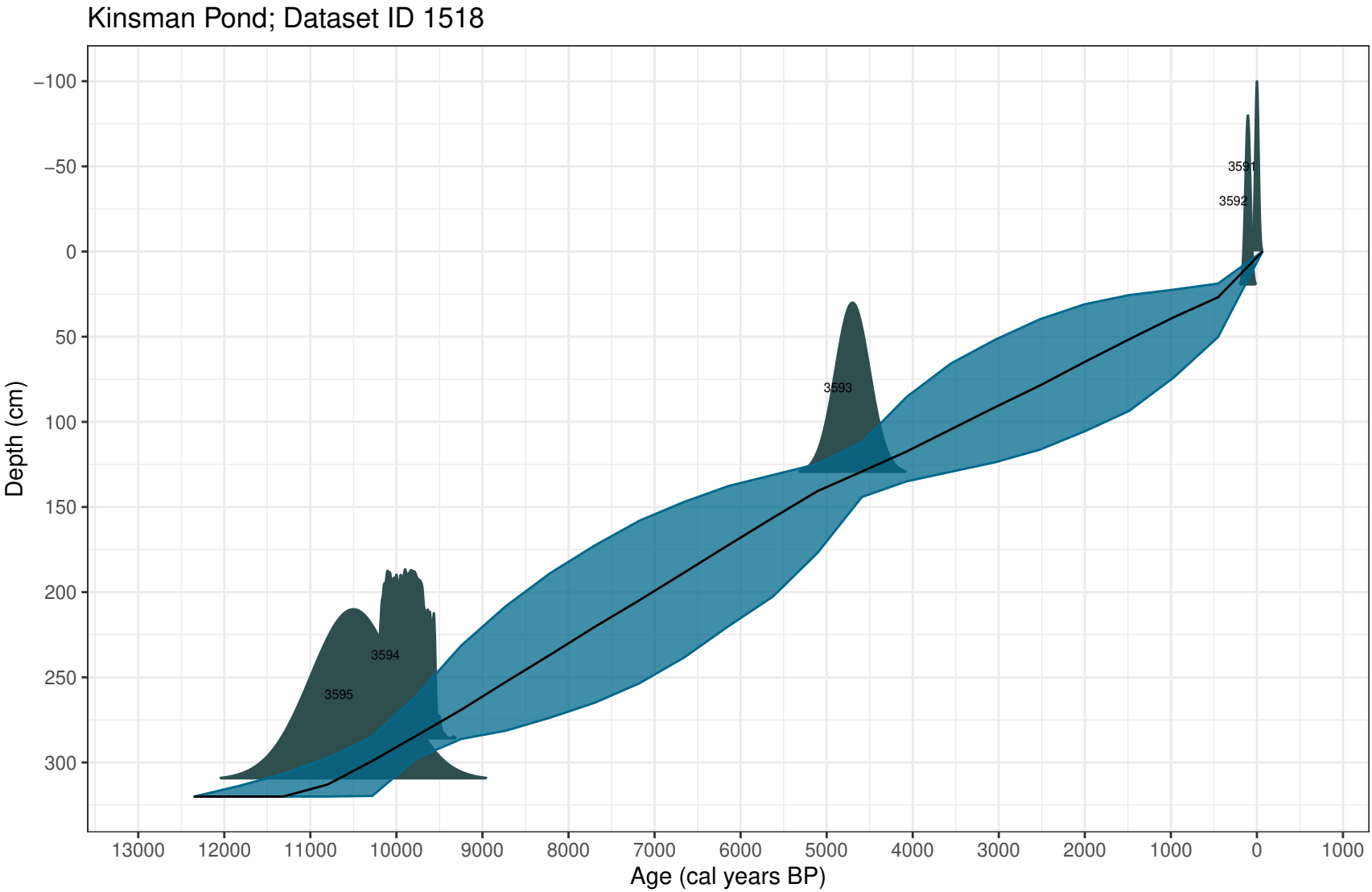
Kinsman Pond; Dataset ID 1518
Depth (cm)
−100
−50
0
50
100
150
200
250
300
3591
3592
3593
3594
3595
13000
12000
11000
10000
9000
8000
7000
6000
5000
4000
3000
2000
1000
0
1000
Age (cal years BP)

Kirk Lake; Dataset ID 1523

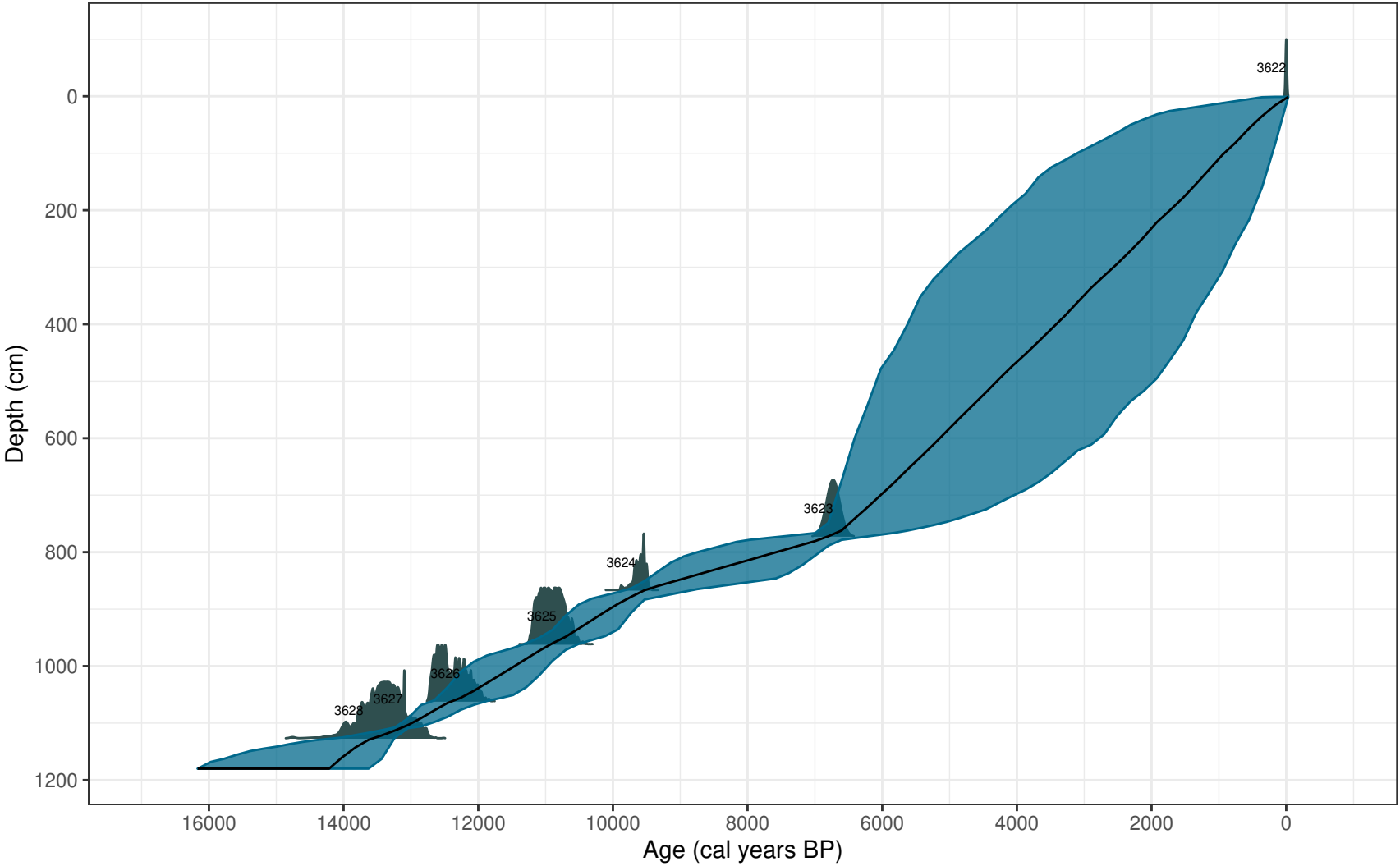

Kitchner Lake; Dataset ID 1524

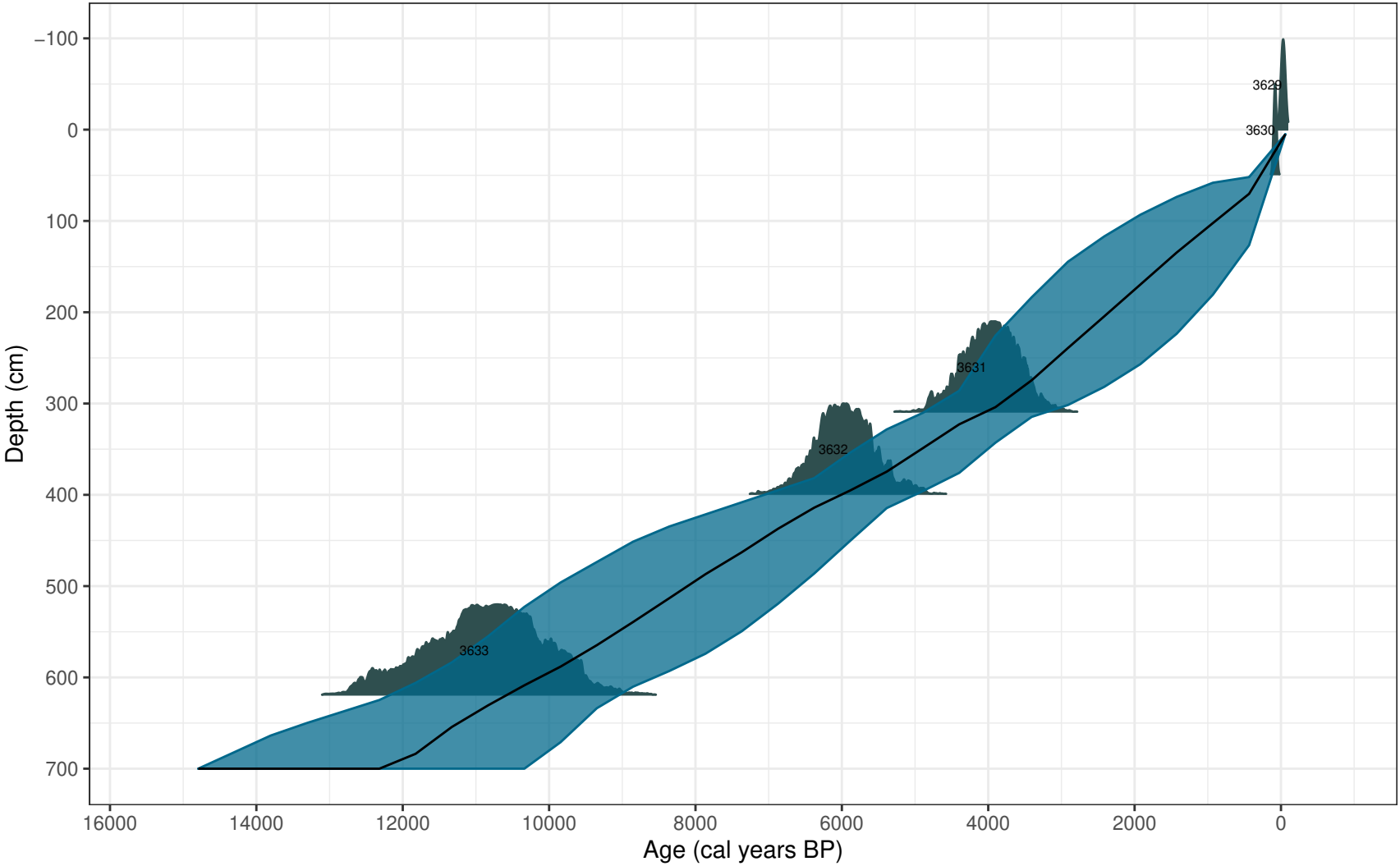

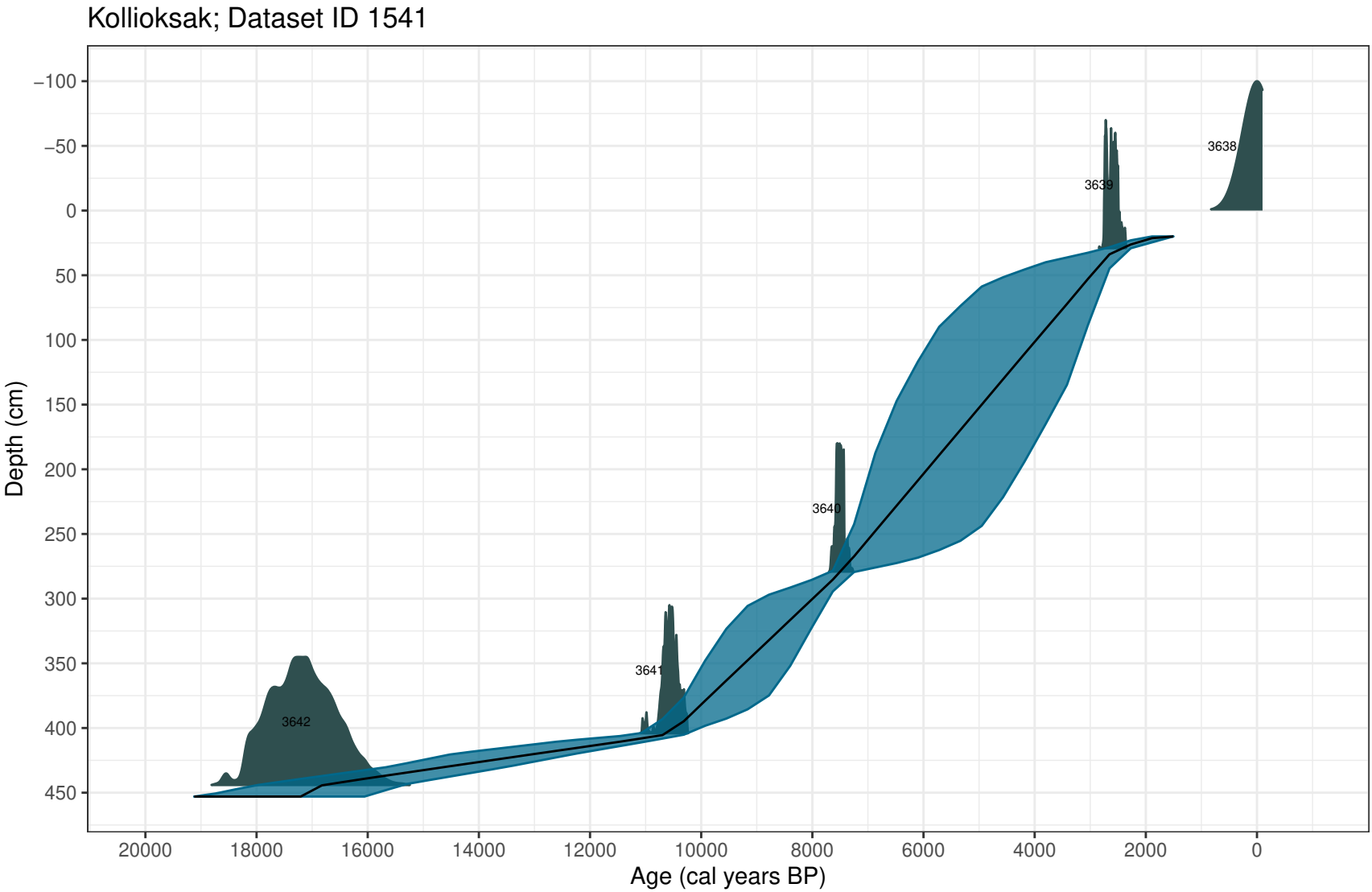
Kollioksak; Dataset ID 1541
Depth (cm)
−100
−50
0
50
100
150
200
250
300
350
400
450
Age (cal years BP)
20000
18000
16000
14000
12000
10000
8000
6000
4000
2000
0
3638
3639
3640
3641
3642

Kotiranta Lake; Dataset ID 1548

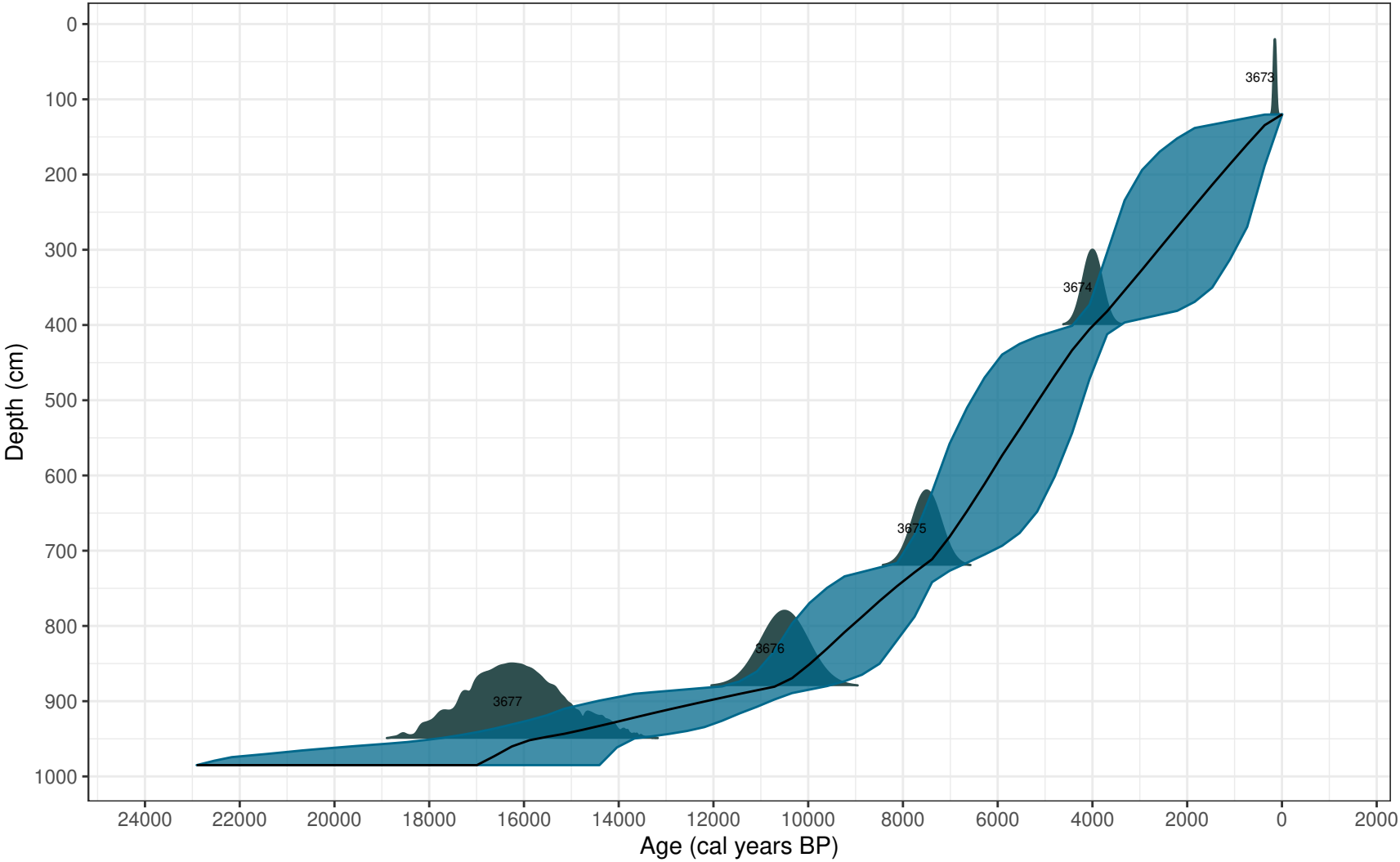

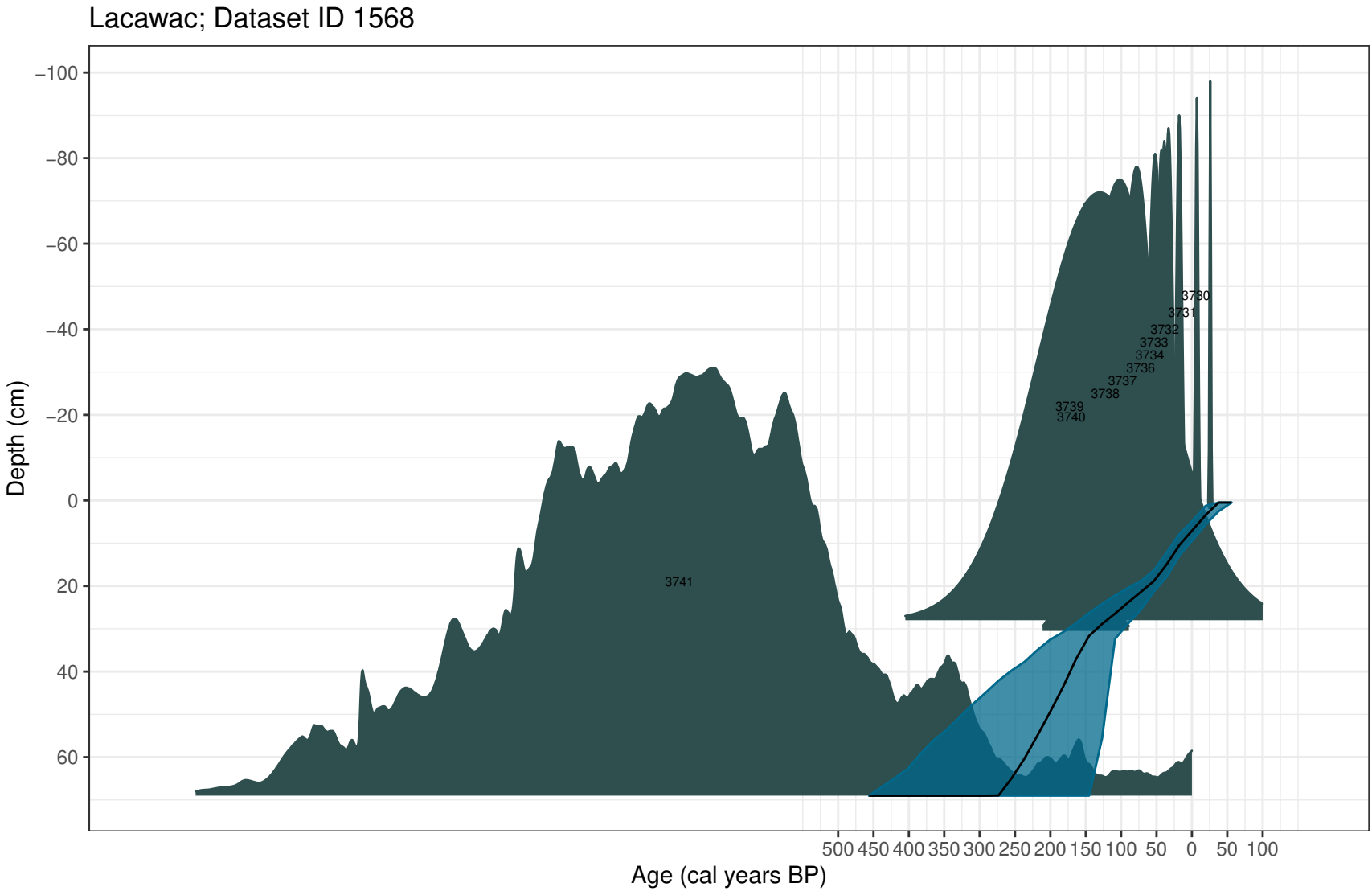
Lacawac; Dataset ID 1568
Depth (cm)
−100
−80
−60
−40
−20
0
20
40
60
3741
3730
3731
3732
3733
3734
3736
3737
3738
3739
3740
500 450 400 350 300 250 200 150 100 50 0 50 100
Age (cal years BP)

Lac Hamard; Dataset ID 1570

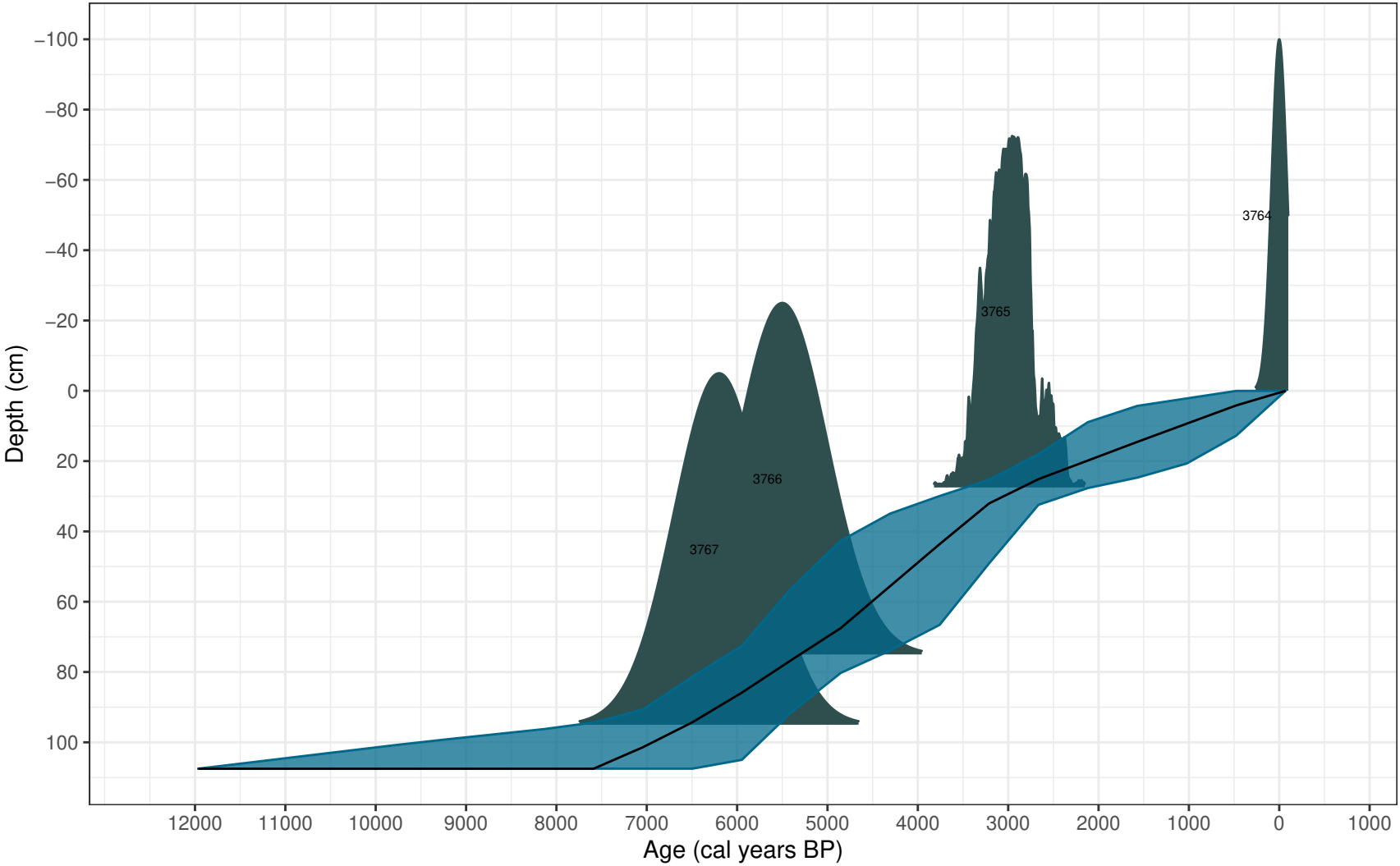

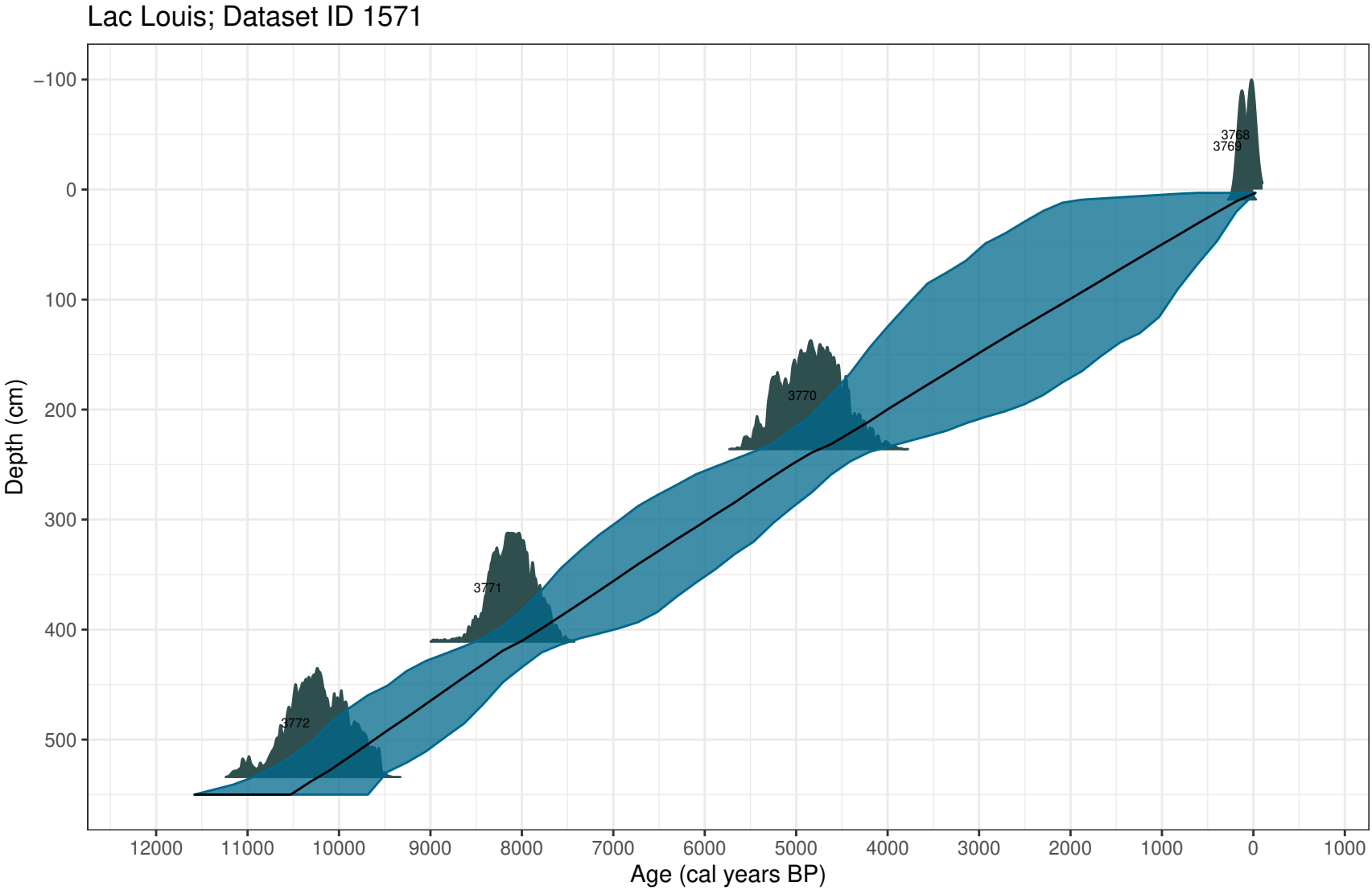
Lac Louis; Dataset ID 1571
Depth (cm)
−100
0
100
200
300
400
500
3768
3769
3770
3771
3772
12000
11000
10000
9000
8000
7000
6000
5000
4000
3000
2000
1000
0
1000
Age (cal years BP)

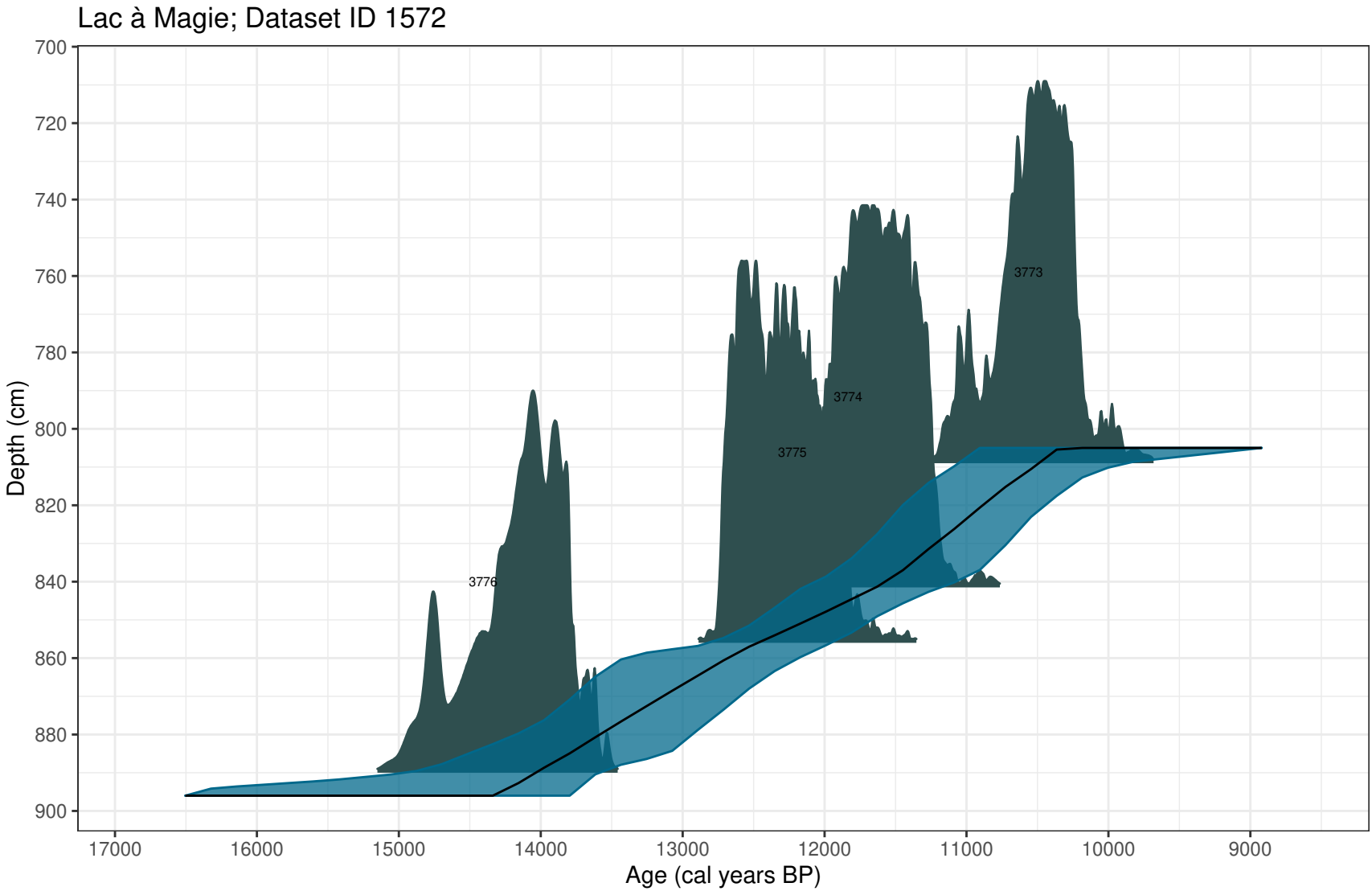
Lac à Magie; Dataset ID 1572
Depth (cm)
700
720
740
760
780
800
820
840
860
880
900
17000
16000
15000
14000
13000
12000
11000
10000
9000
Age (cal years BP)
3776
3775
3774
3773

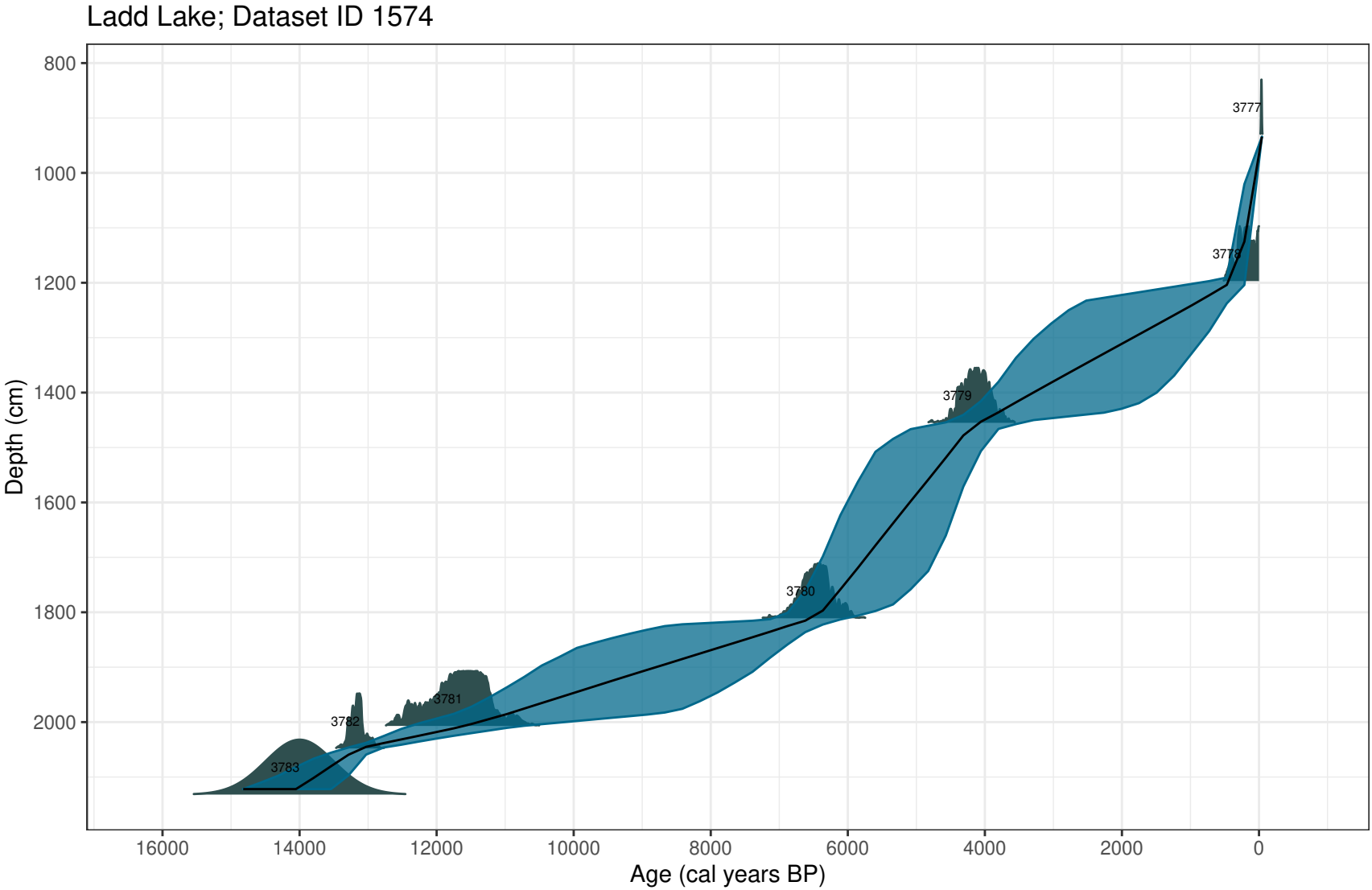
Ladd Lake; Dataset ID 1574
Depth (cm)
800
1000
1200
1400
1600
1800
2000
Age (cal years BP)
16000
14000
12000
10000
8000
6000
4000
2000
0
3777
3778
3779
3780
3781
3782
3783

Lake Sixteen; Dataset ID 1580

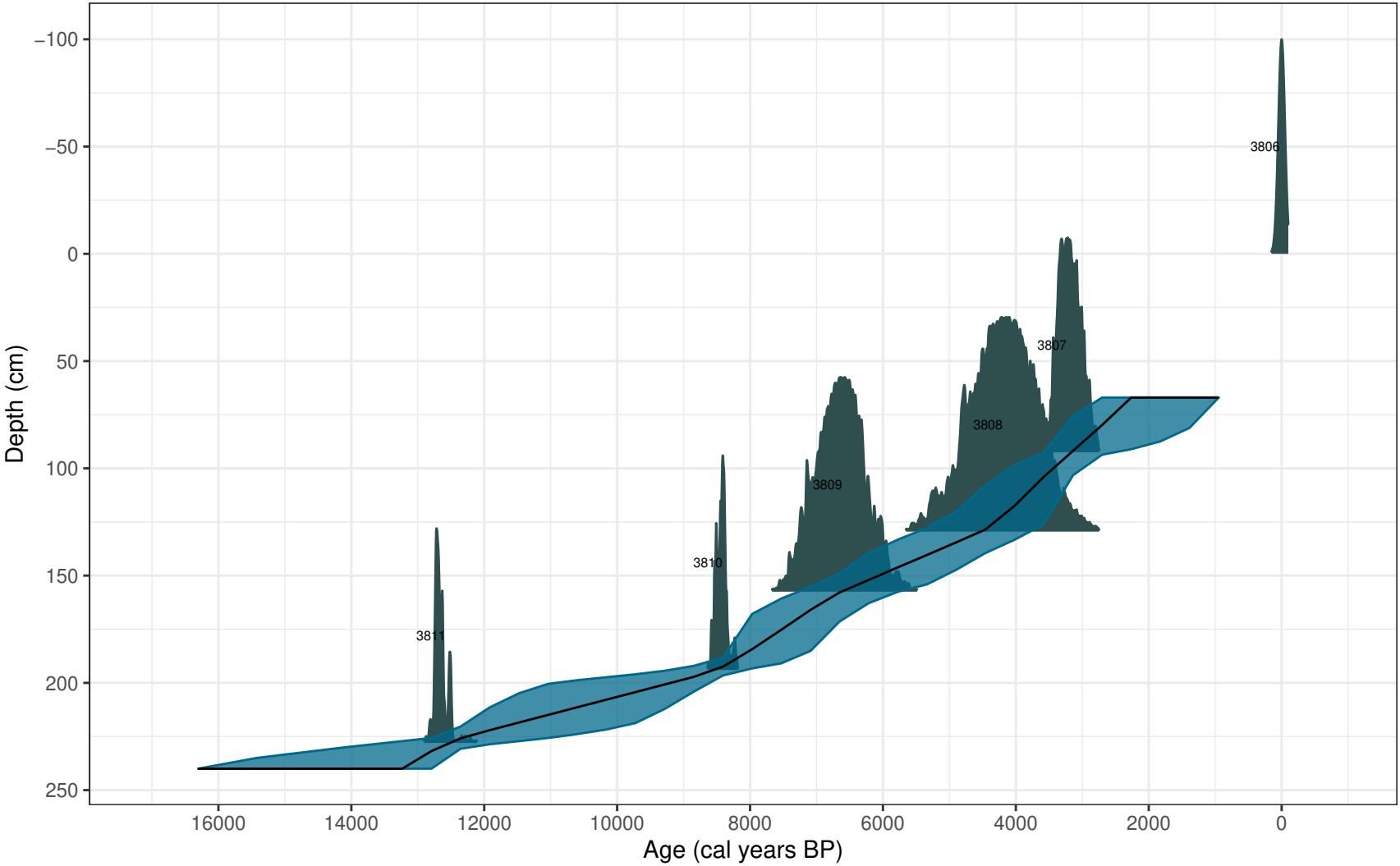

Lake 27; Dataset ID 1581

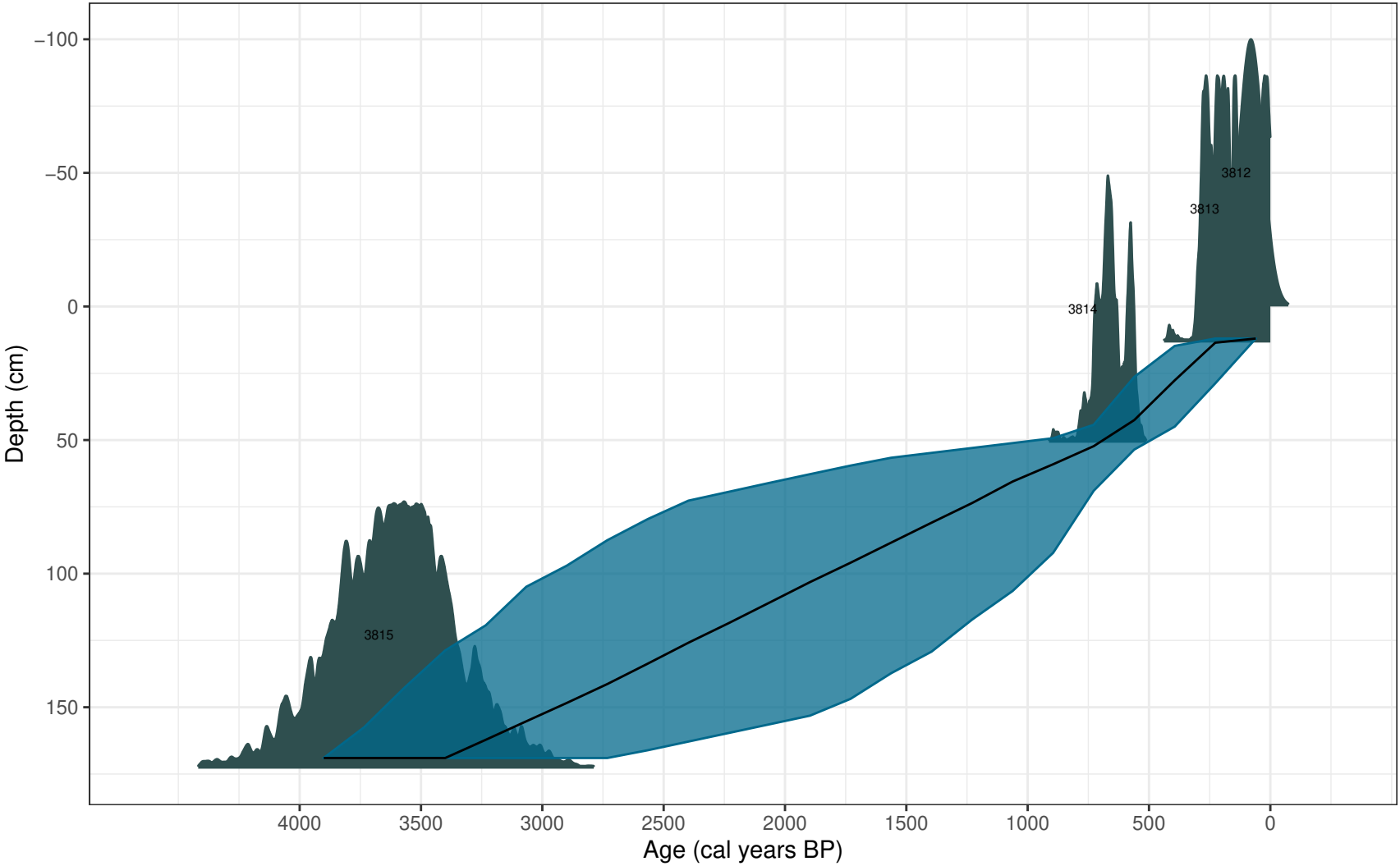

Lake 31; Dataset ID 1582

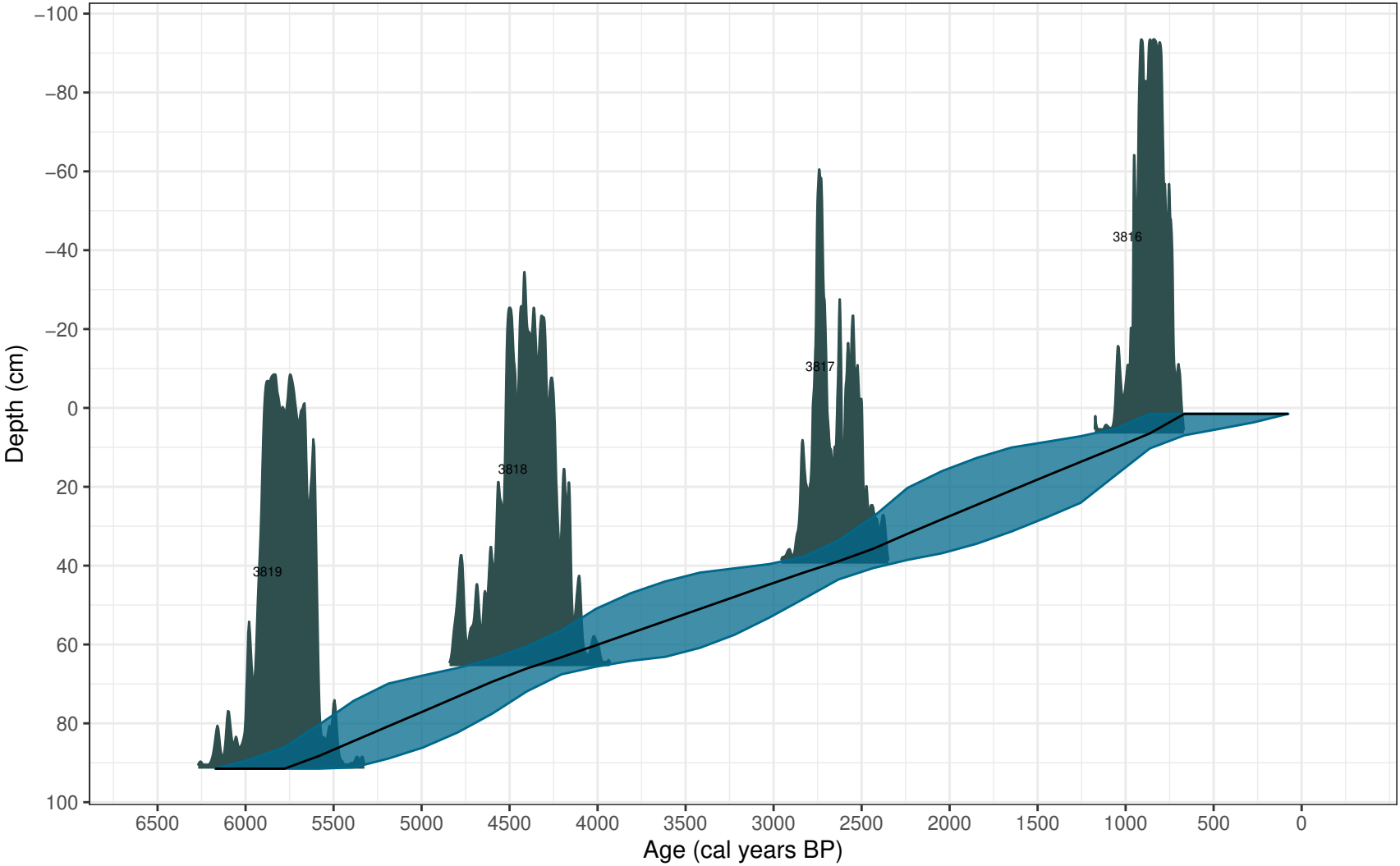

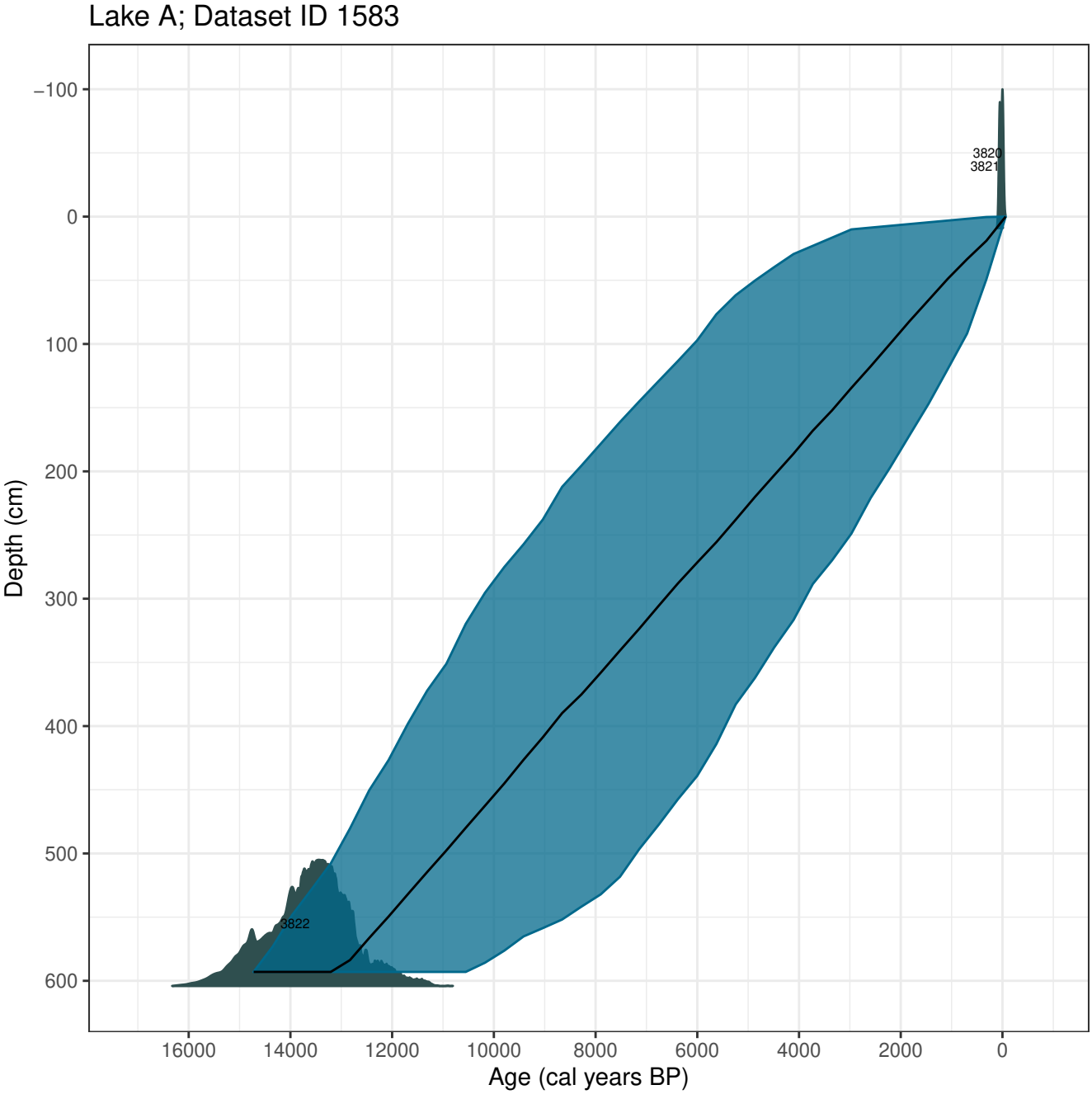
Lake A; Dataset ID 1583
Depth (cm)
−100
0
100
200
300
400
500
600
3820
3821
3822
16000
14000
12000
10000
8000
6000
4000
2000
0
Age (cal years BP)

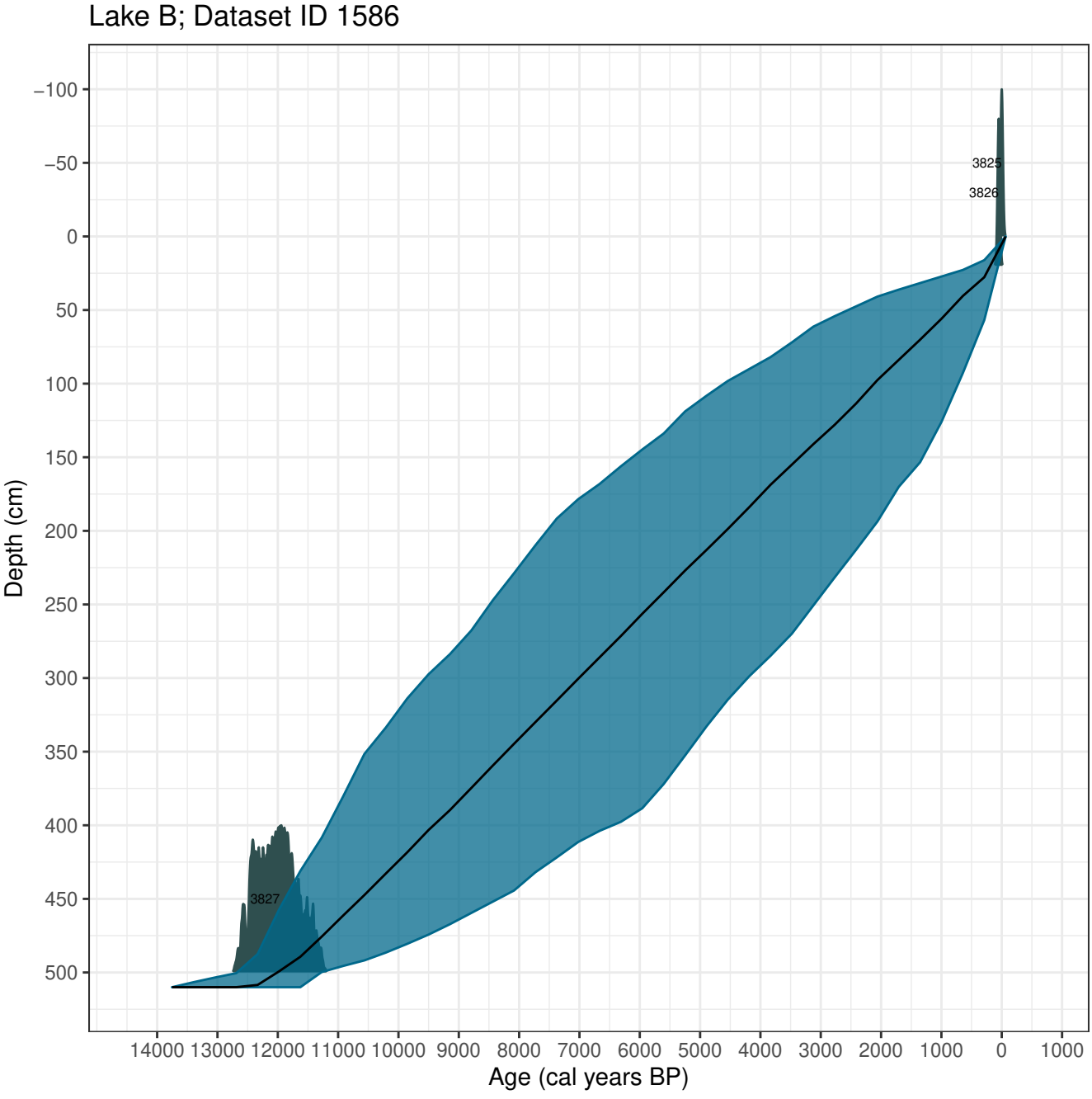
Lake B; Dataset ID 1586
Depth (cm)
−100
−50
0
50
100
150
200
250
300
350
400
450
500
3825
3826
3827
14000 13000 12000 11000 10000 9000 8000 7000 6000 5000 4000 3000 2000 1000 0 1000
Age (cal years BP)

Swan Lake; Dataset ID 15864

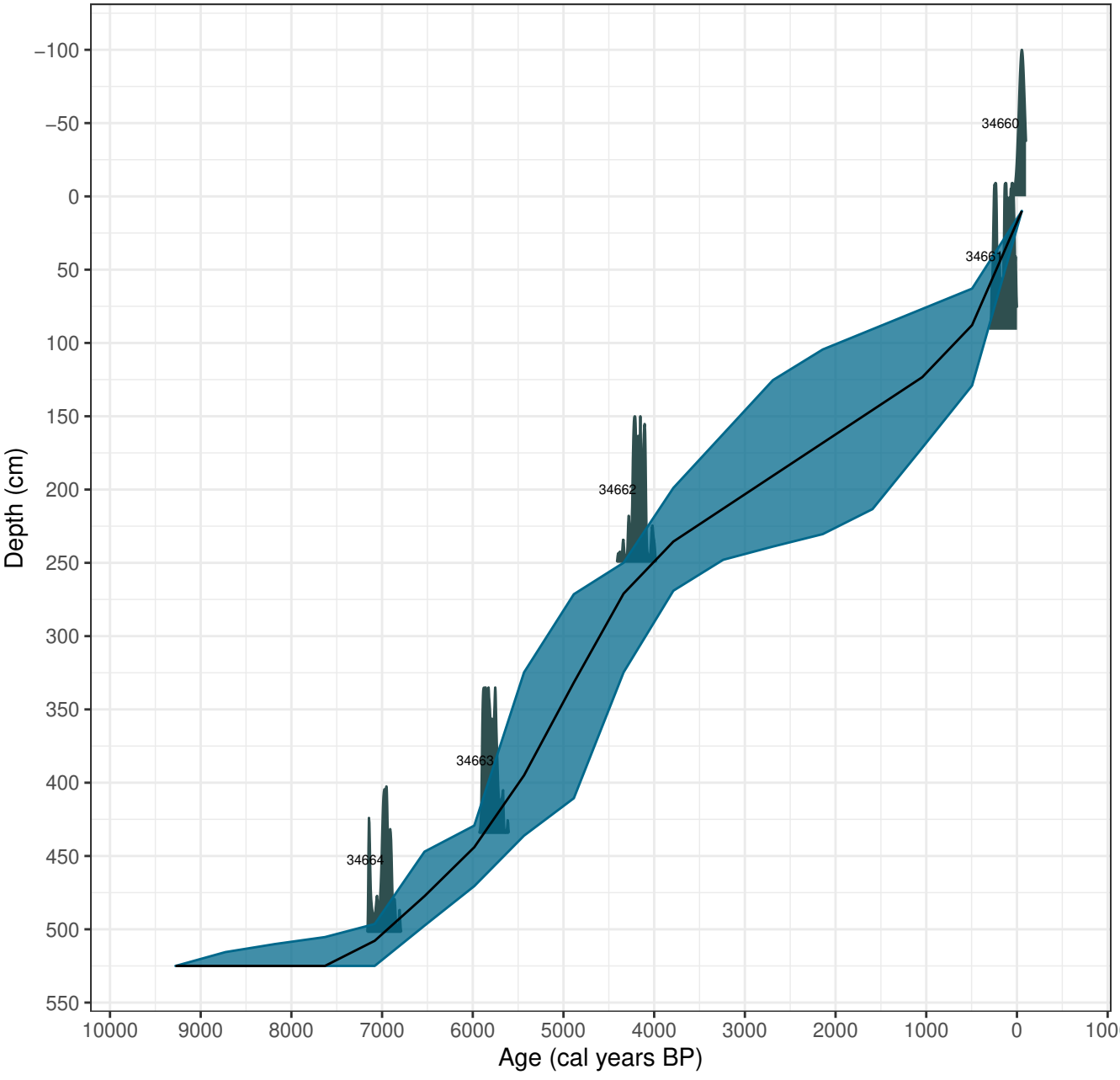

Lake Carlson; Dataset ID 1588

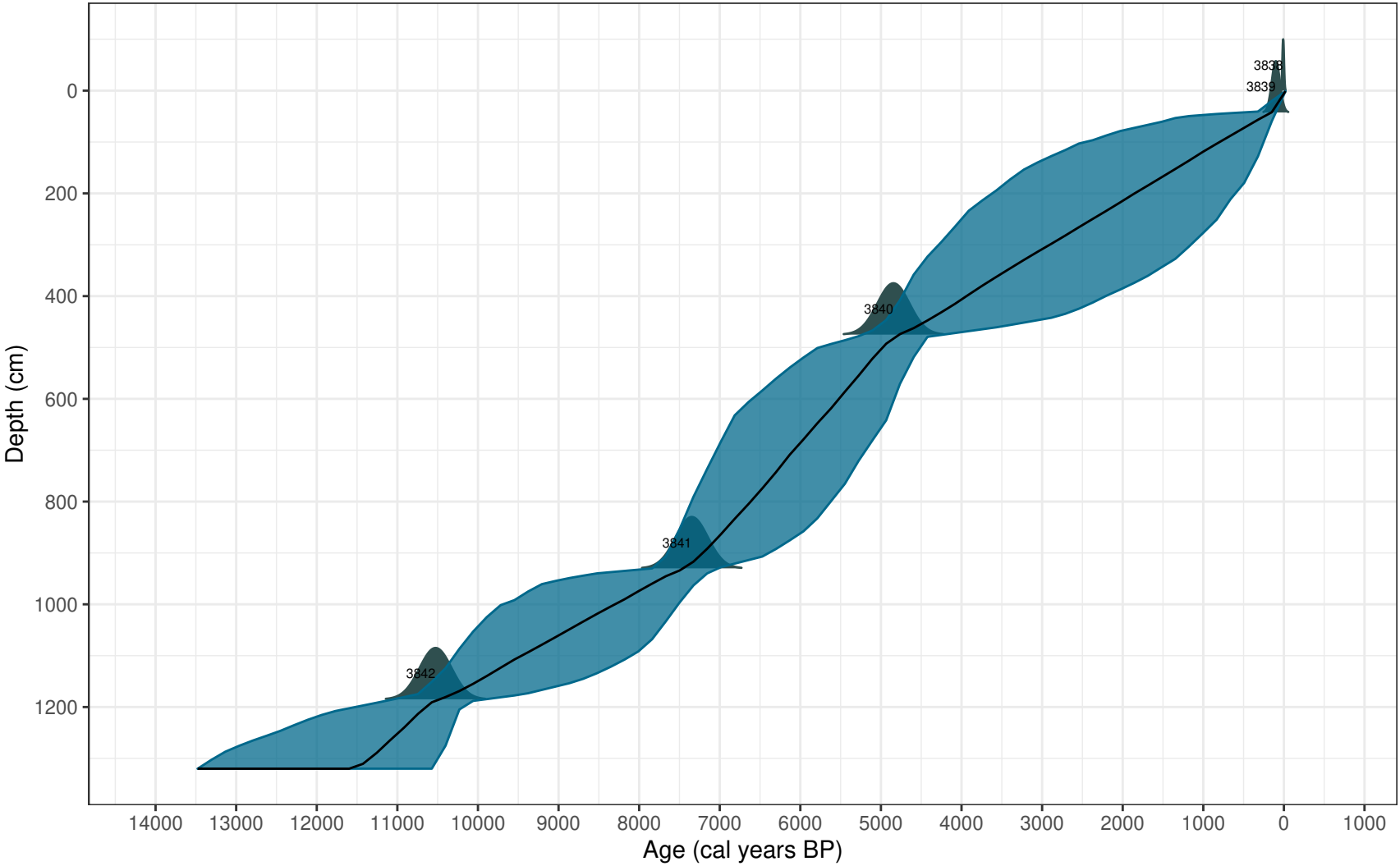

Lake EC1; Dataset ID 1591

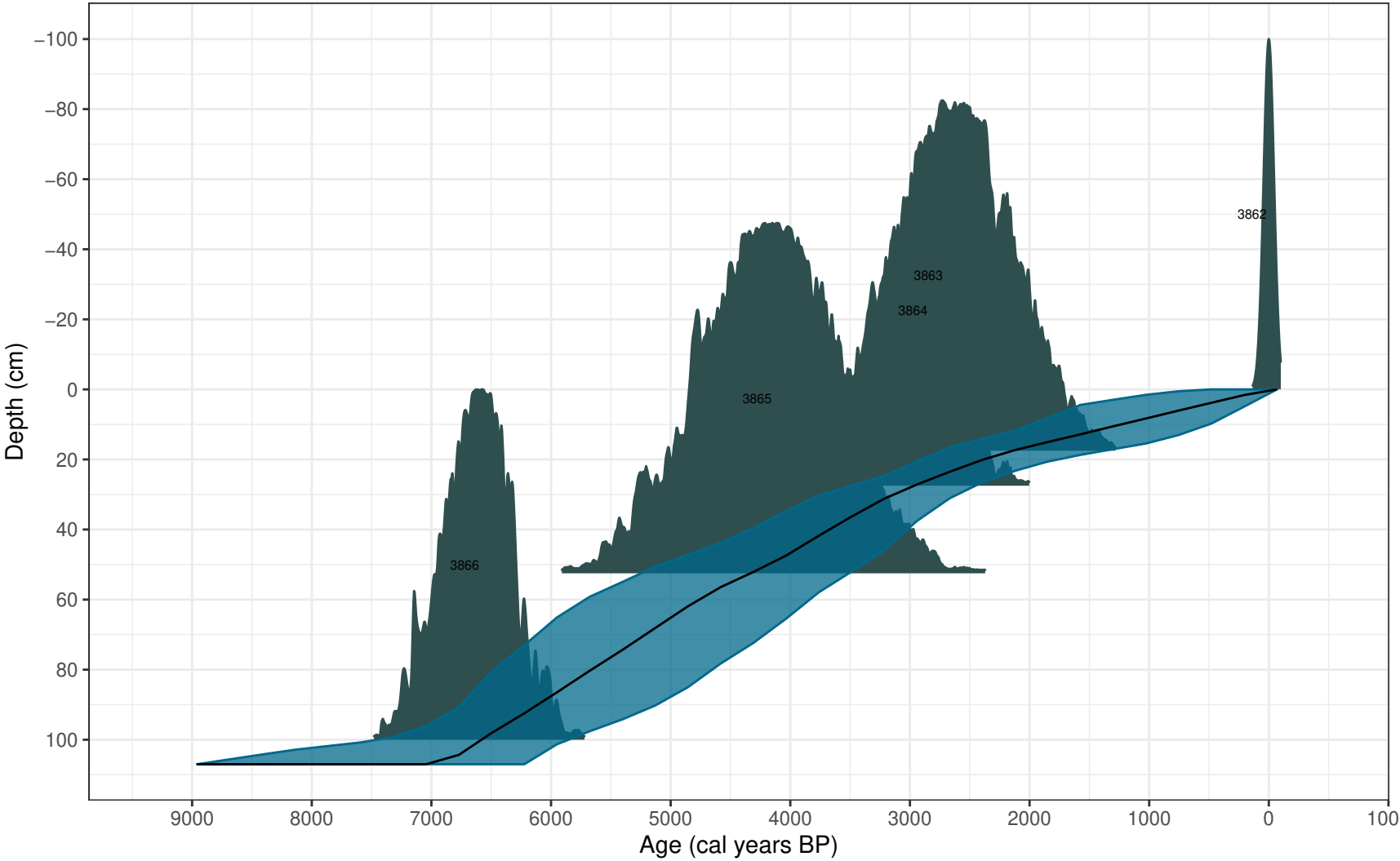

Lake EC2; Dataset ID 1592

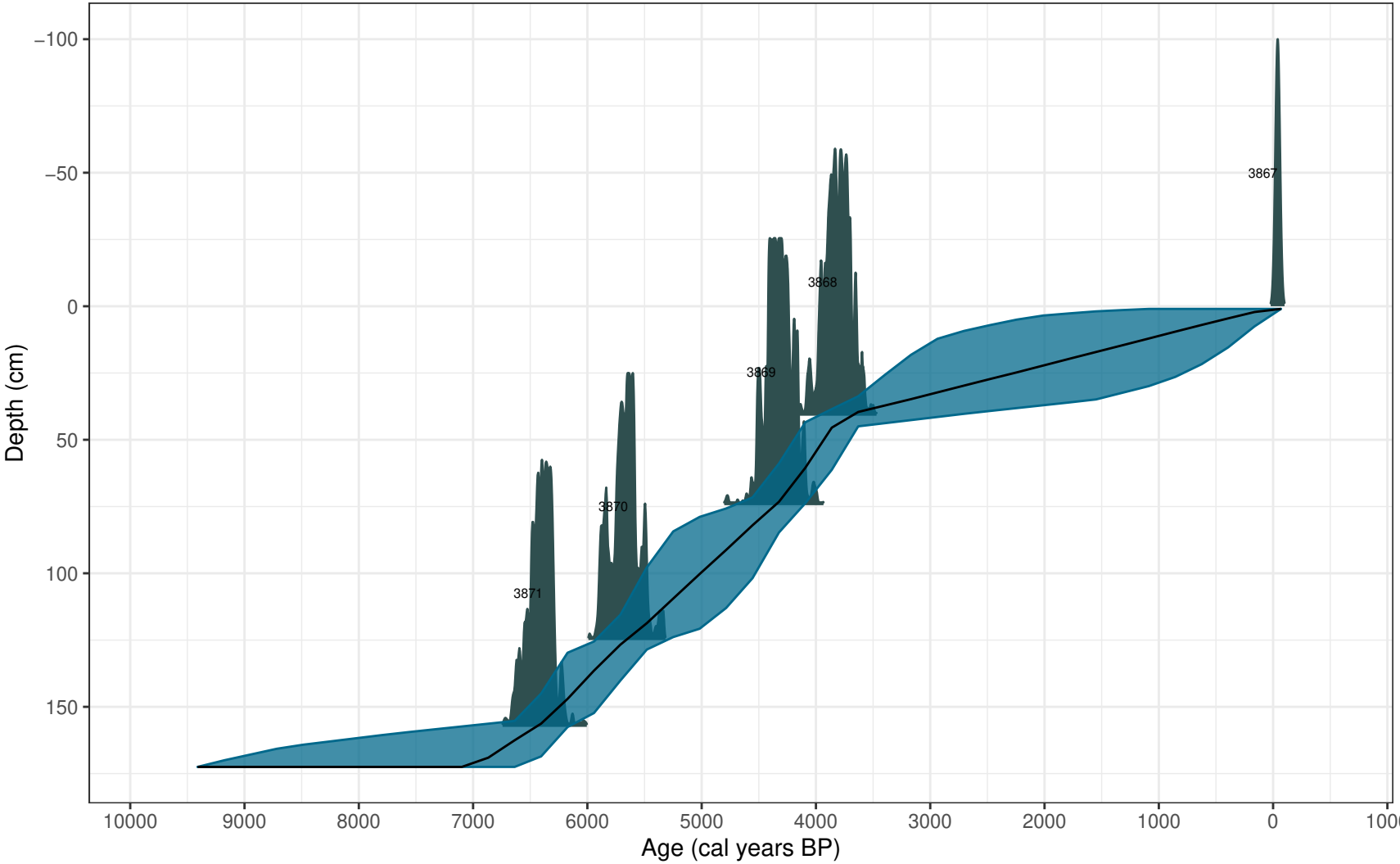

Lake GB1; Dataset ID 1594

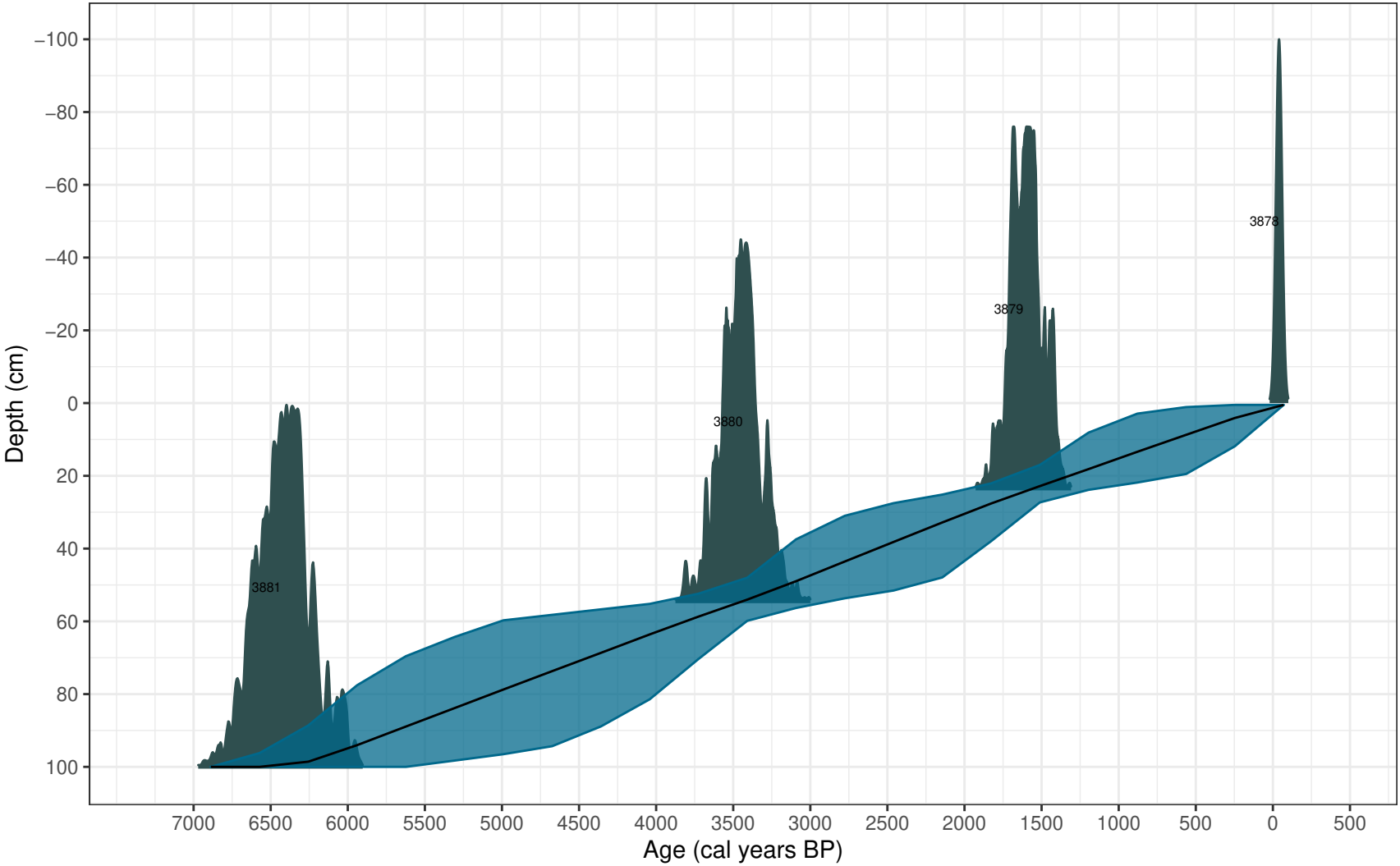

Lake GB2; Dataset ID 1595

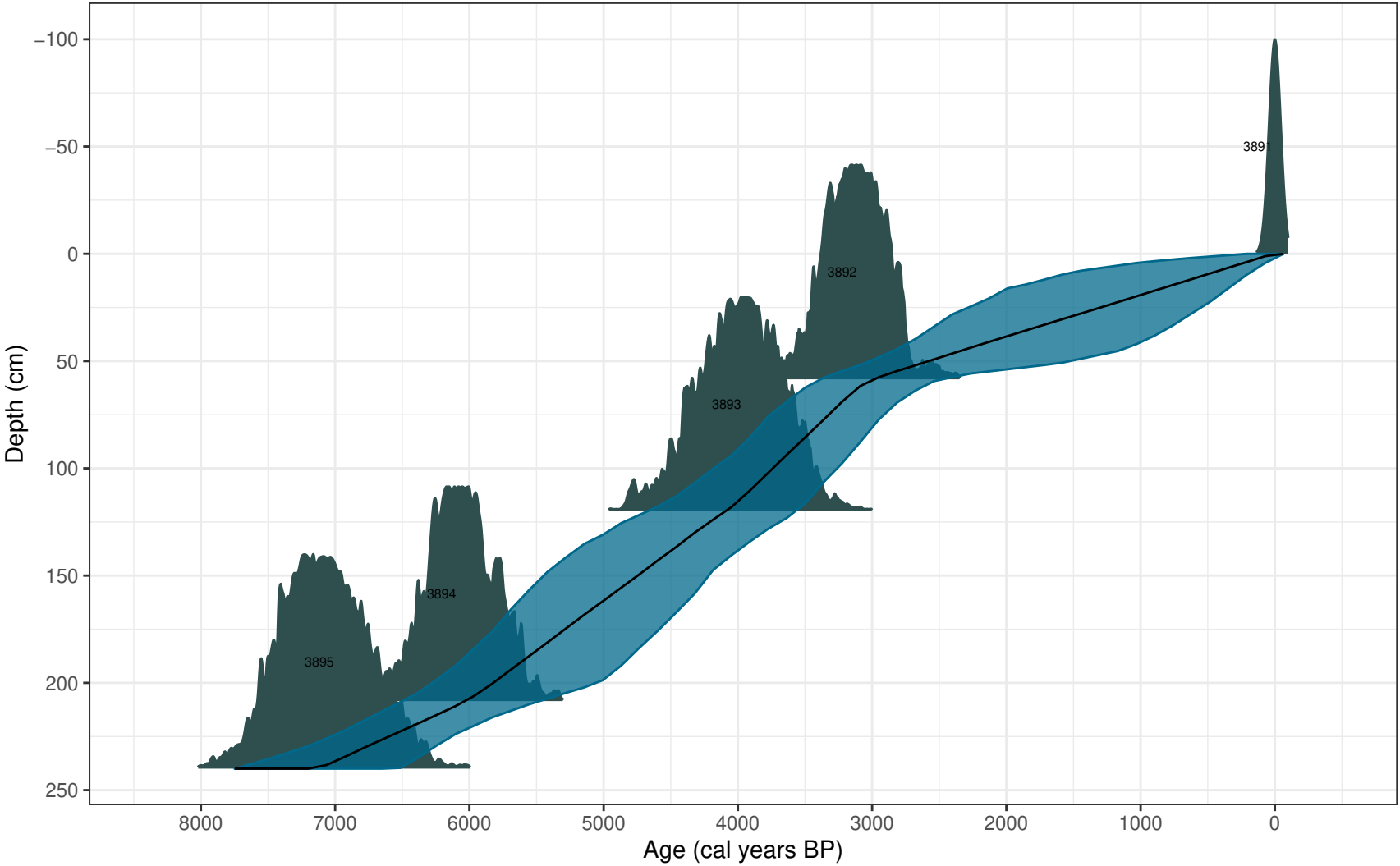

Lake LB1; Dataset ID 1598

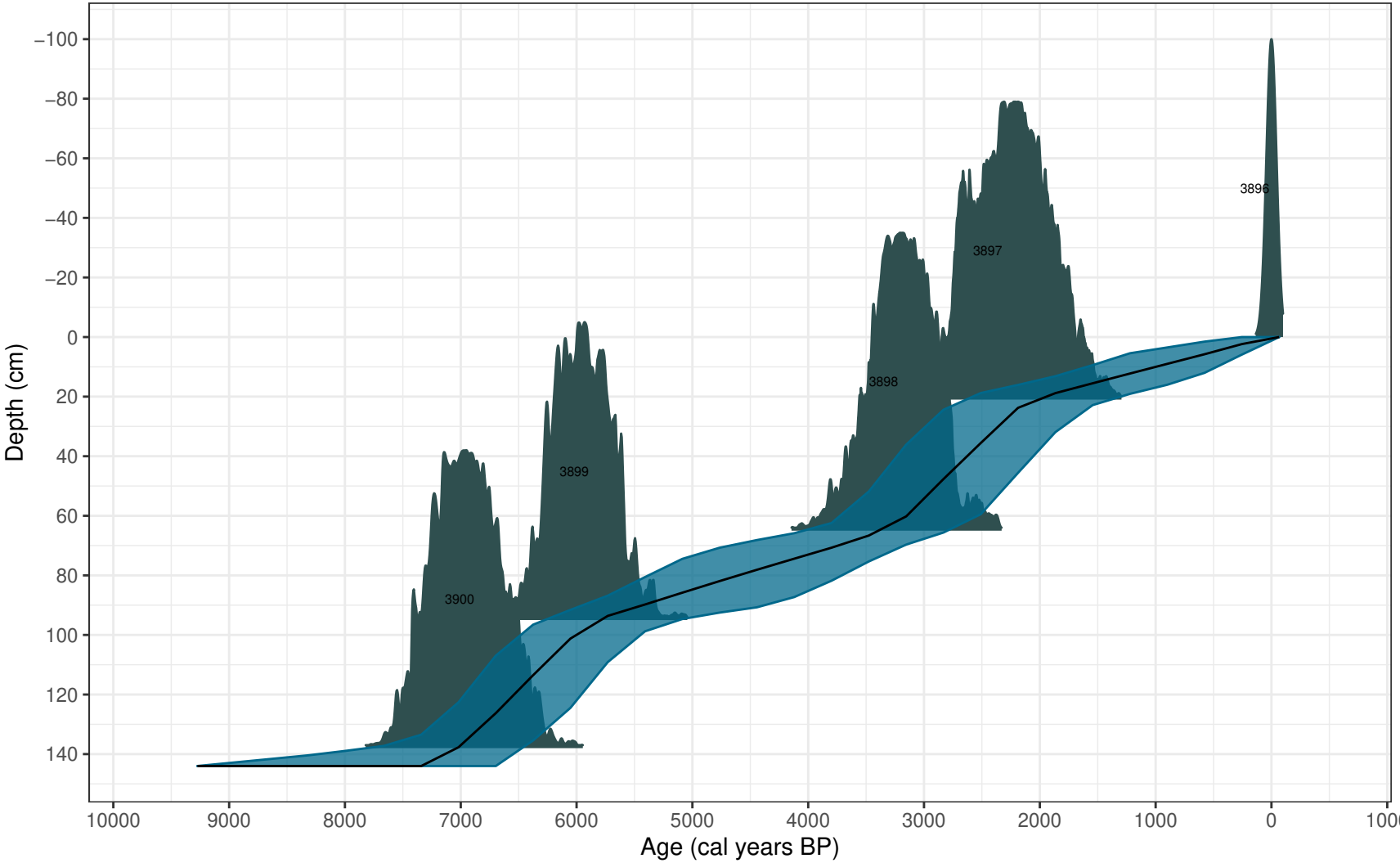

Lake LR1; Dataset ID 1599

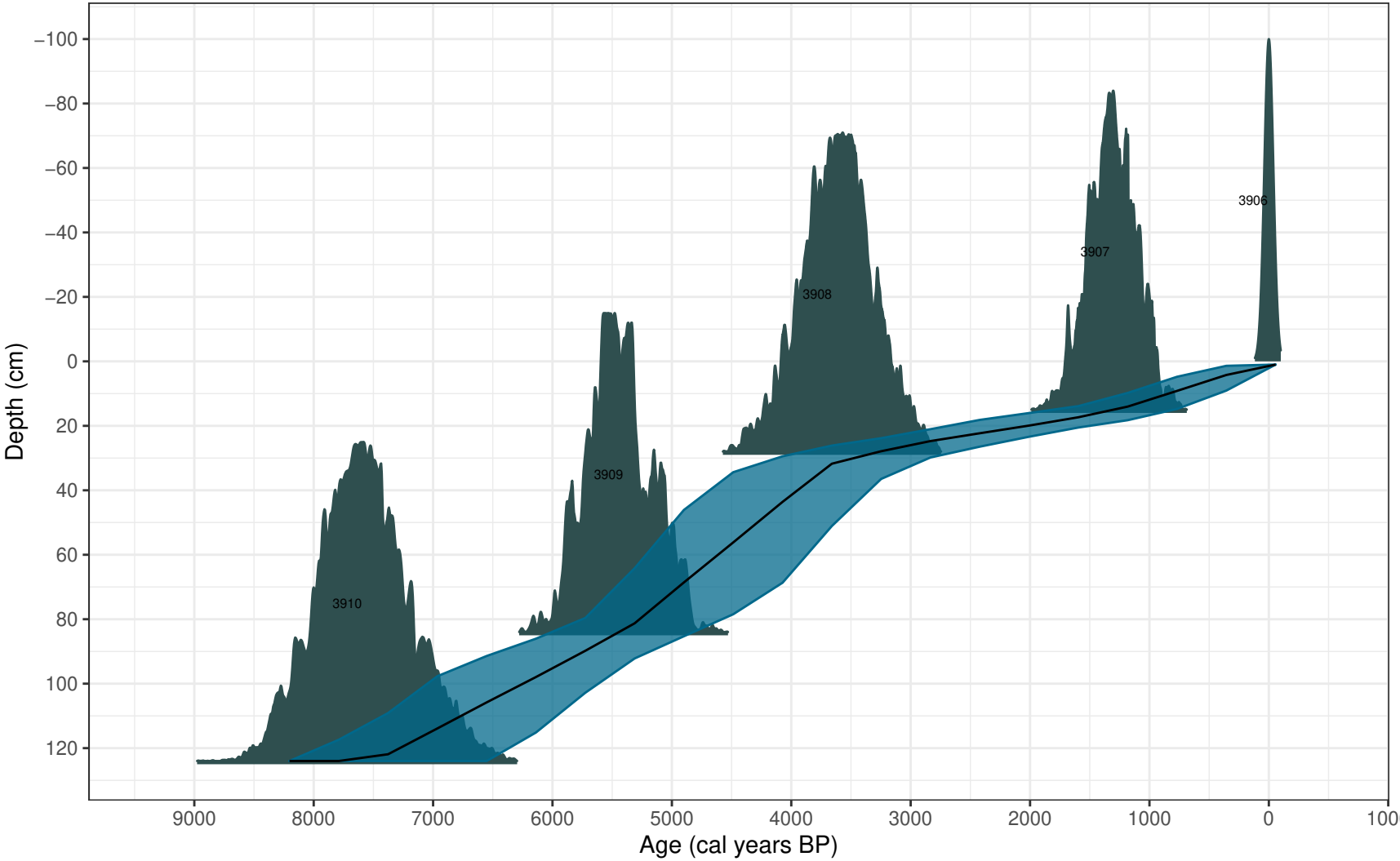

Lake LR3; Dataset ID 1601

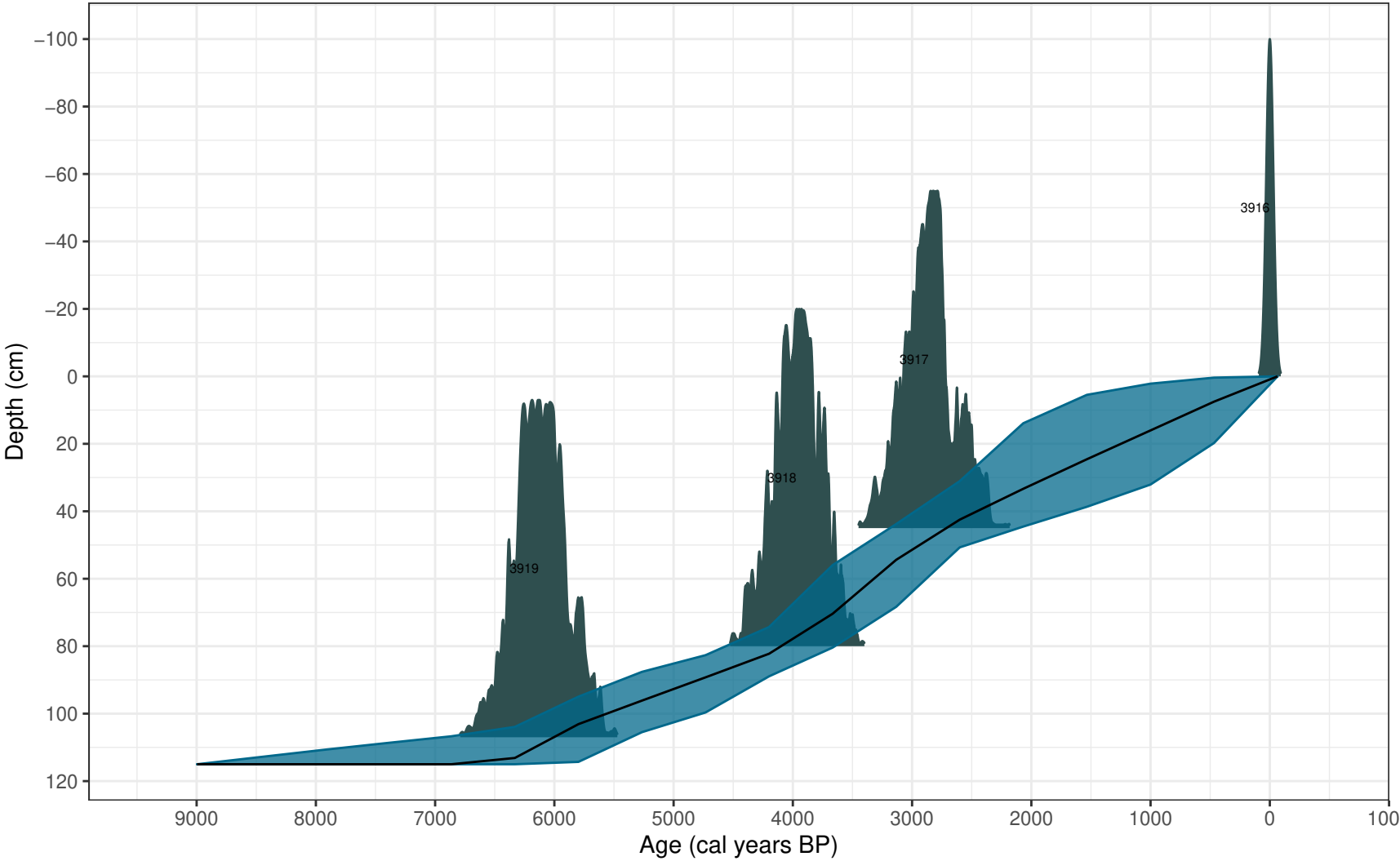

Torren's Bog; Dataset ID 16012

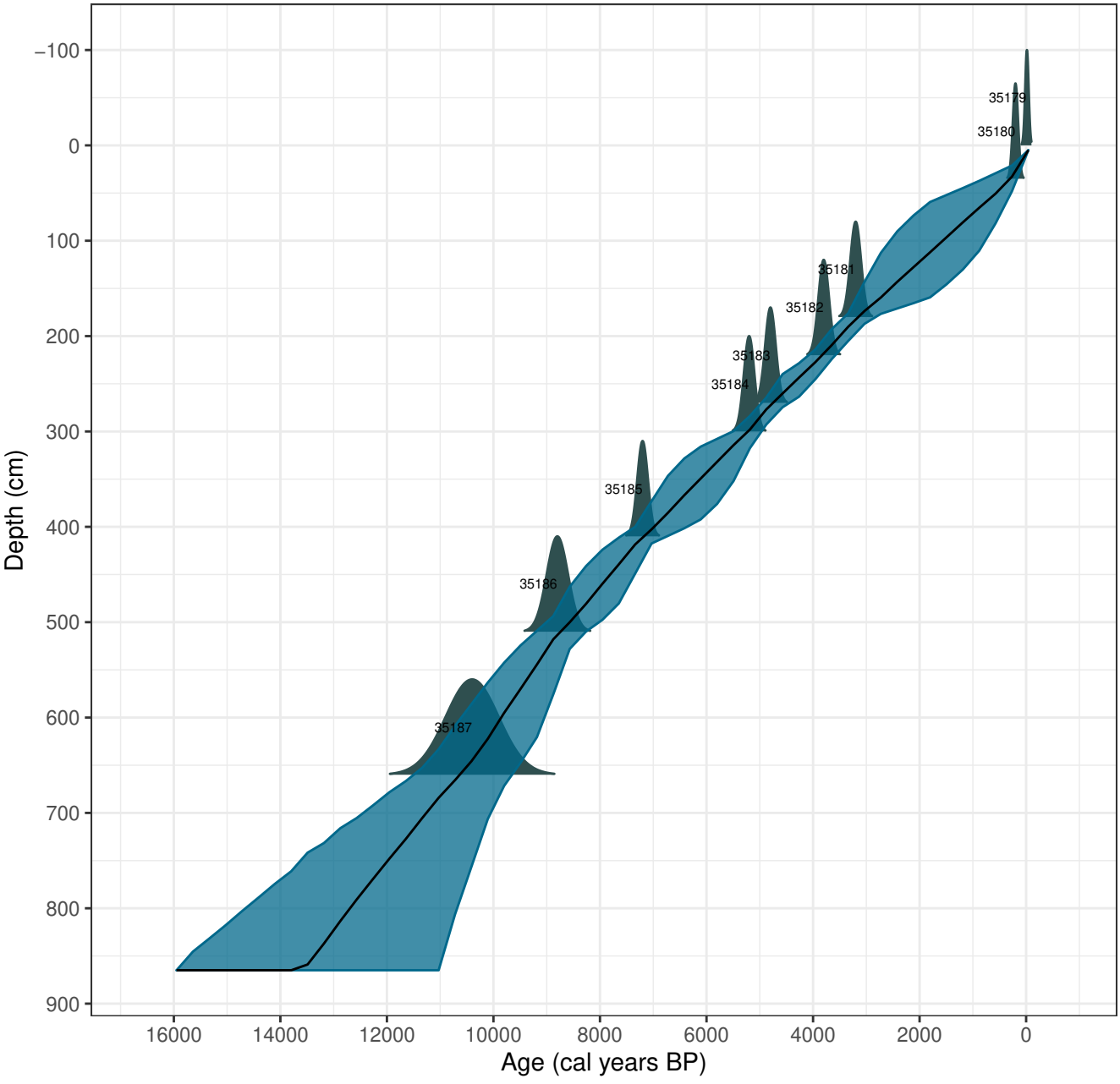

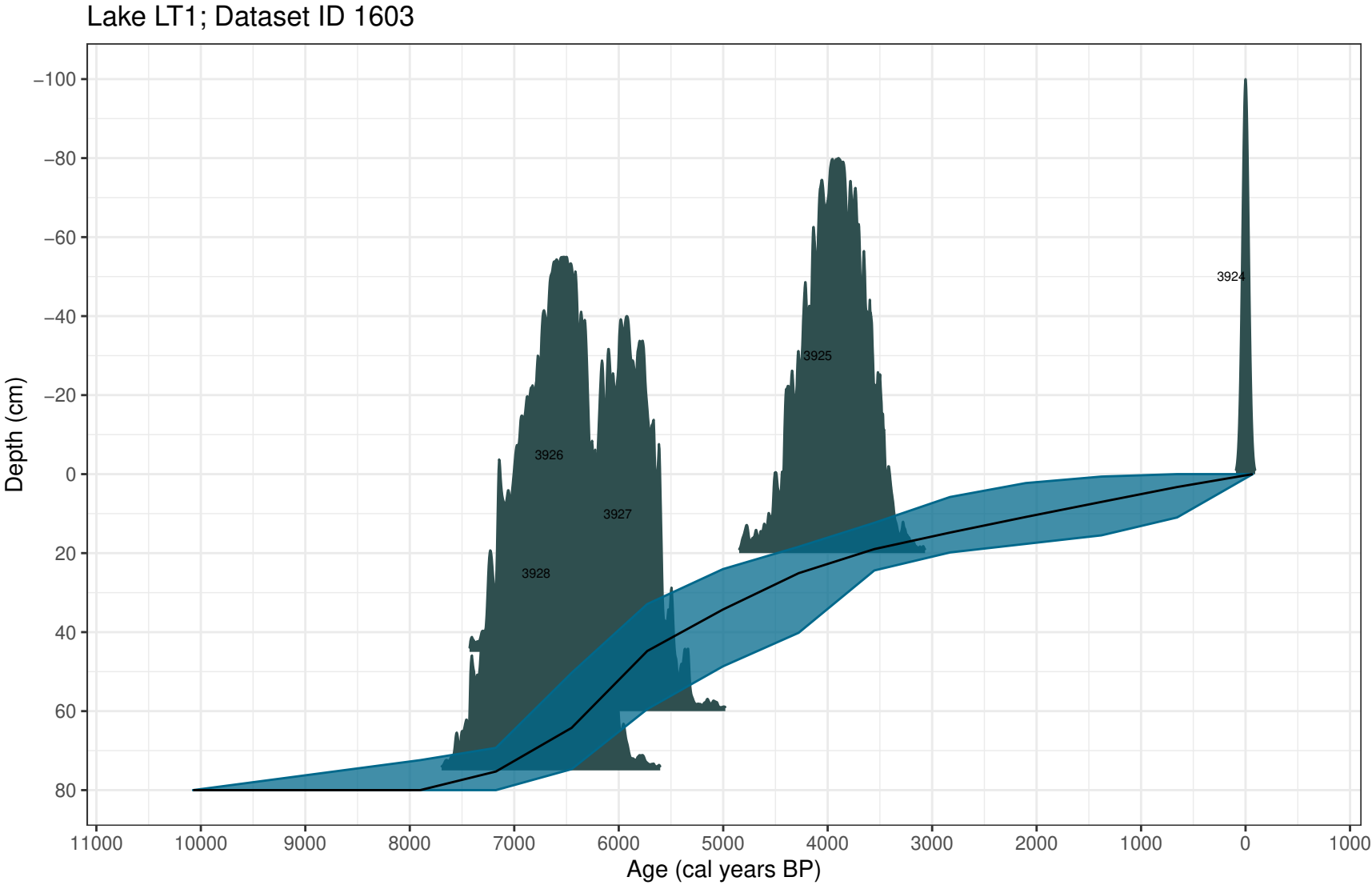
Lake LT1; Dataset ID 1603
Depth (cm)
−100
−80
−60
−40
−20
0
20
40
60
80
3924
3925
3926
3927
3928
11000
10000
9000
8000
7000
6000
5000
4000
3000
2000
1000
0
1000
Age (cal years BP)

Lake PWWL; Dataset ID 1604

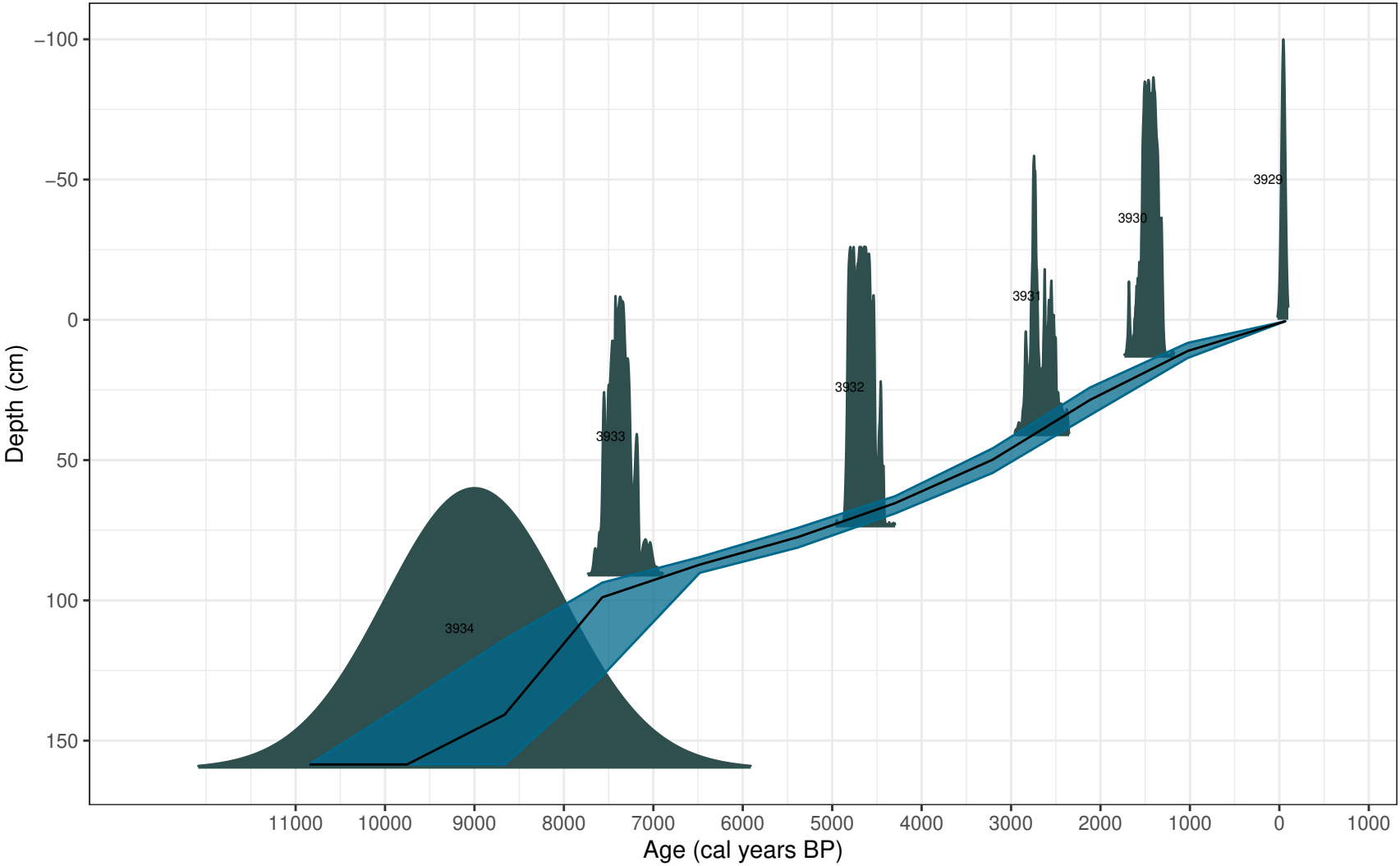

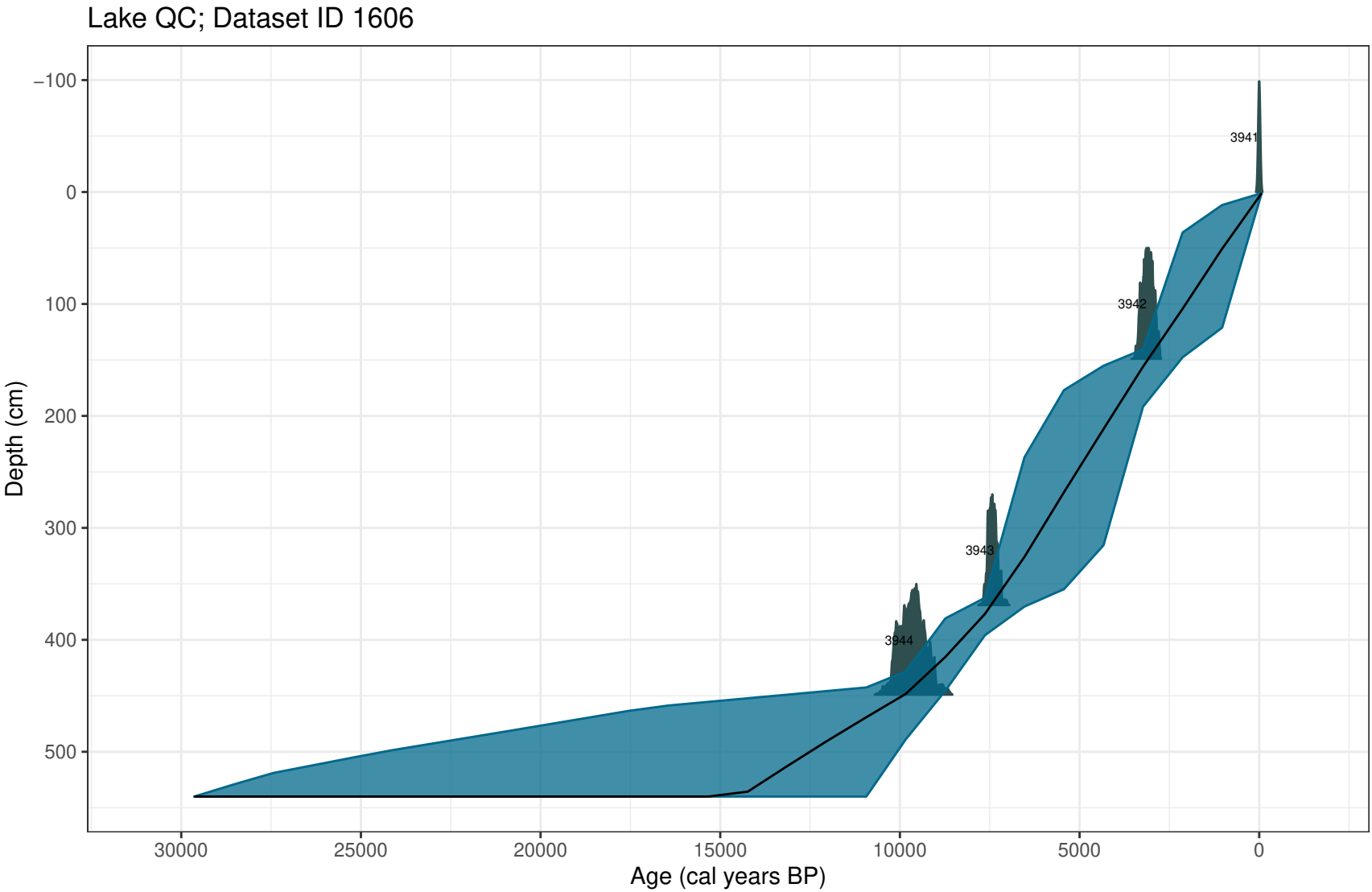
Lake QC; Dataset ID 1606
Depth (cm)
−100
0
100
200
300
400
500
3941
3942
3943
3944
30000
25000
20000
15000
10000
5000
0
Age (cal years BP)

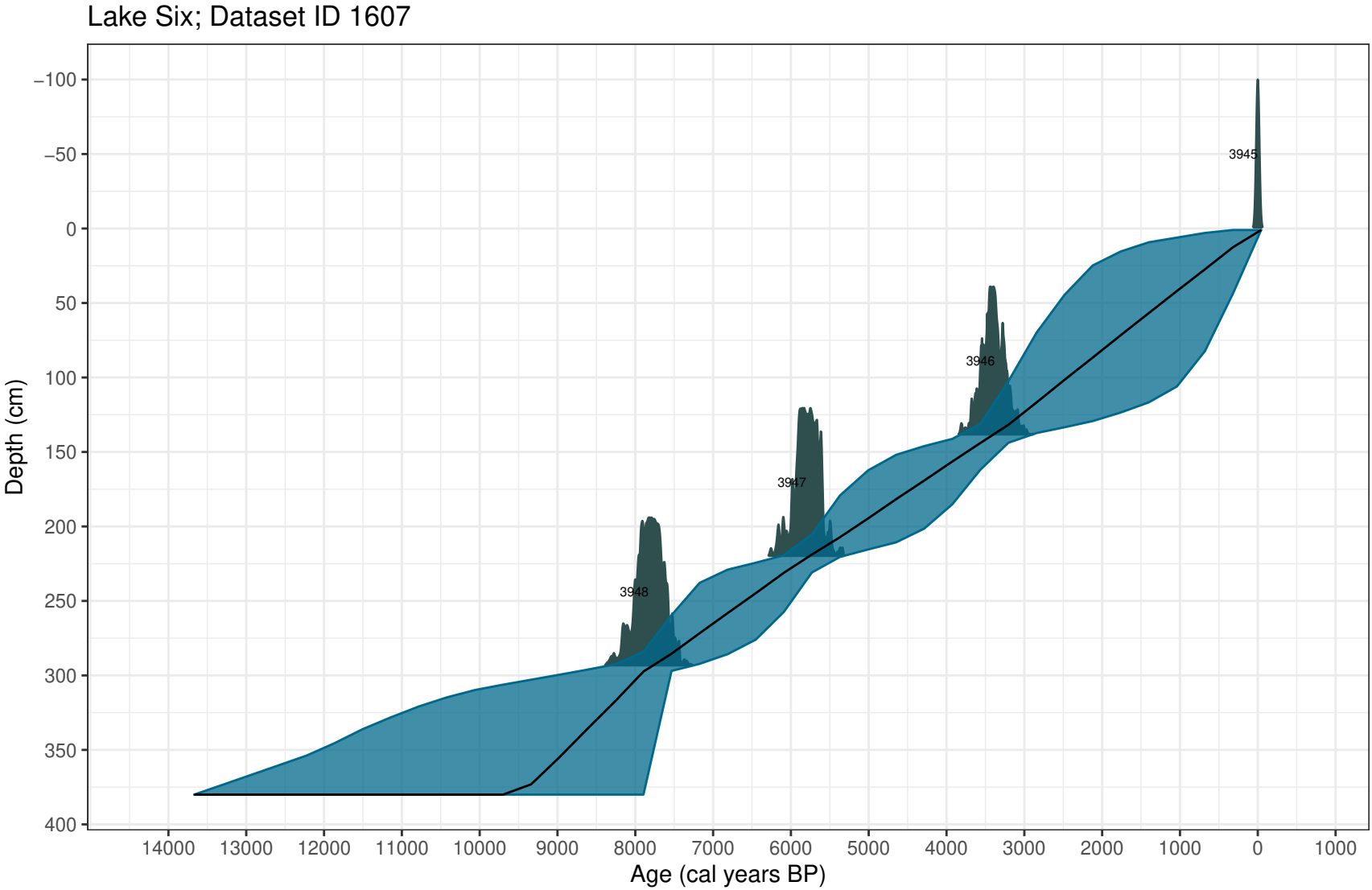
Lake Six; Dataset ID 1607
Depth (cm)
−100
−50
0
50
100
150
200
250
300
350
400
3945
3946
3947
3948
14000
13000
12000
11000
10000
9000
8000
7000
6000
5000
4000
3000
2000
1000
0
1000
Age (cal years BP)

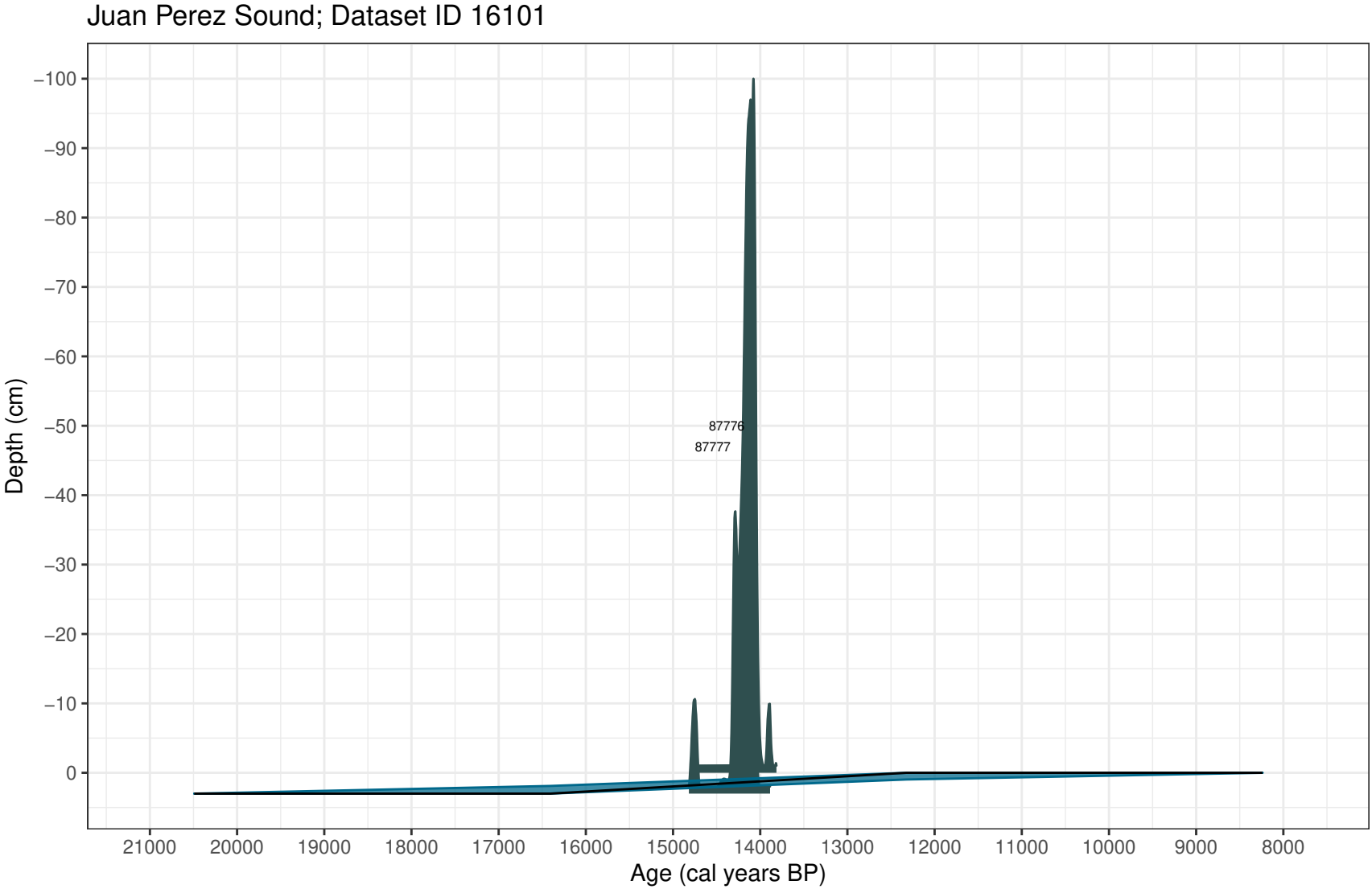
Juan Perez Sound; Dataset ID 16101
Depth (cm)
−100
−90
−80
−70
−60
−50
−40
−30
−20
−10
0
87776
87777
21000
20000
19000
18000
17000
16000
15000
14000
13000
12000
11000
10000
9000
8000
Age (cal years BP)

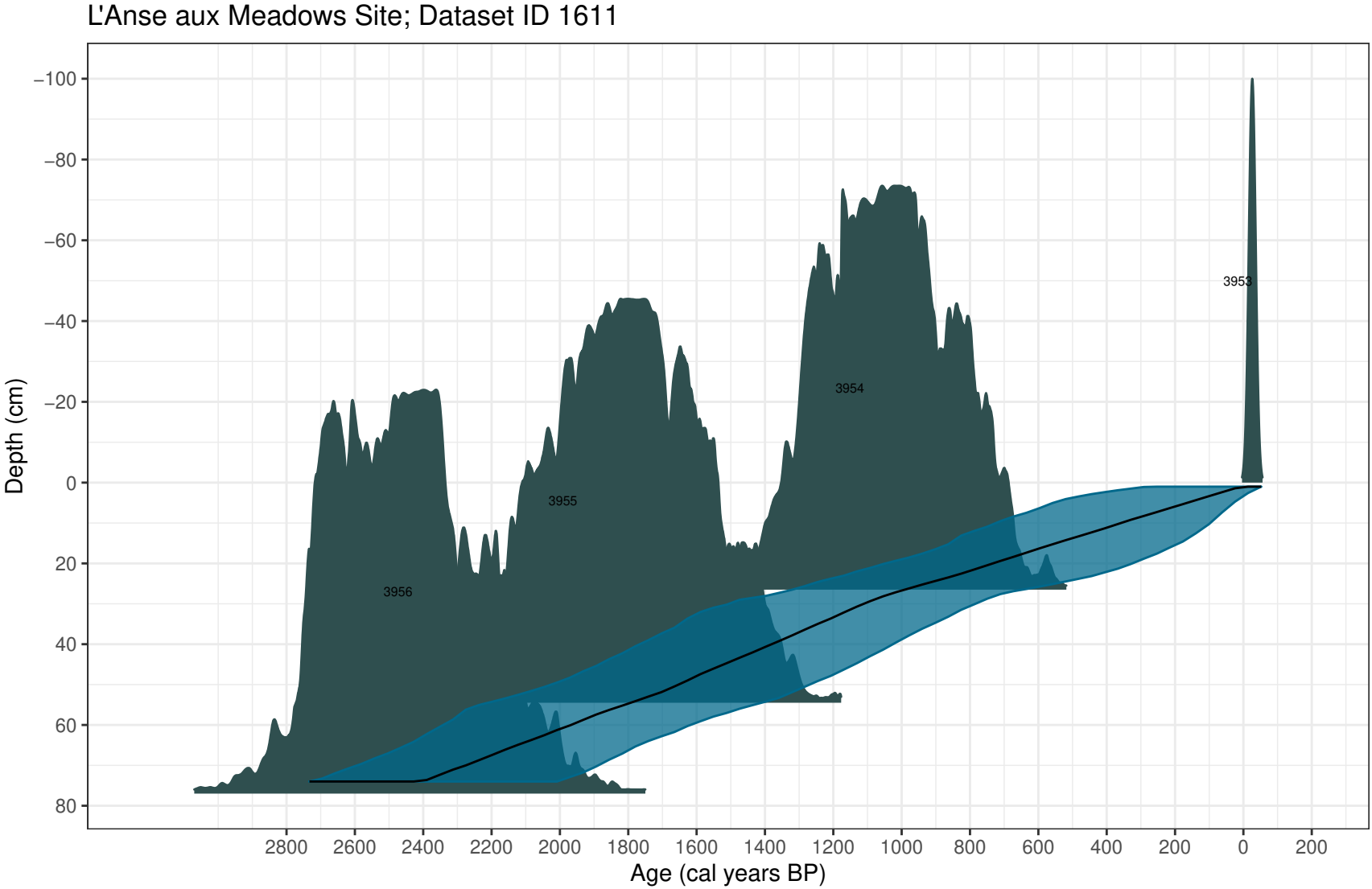
L'Anse aux Meadows Site; Dataset ID 1611
Depth (cm)
−100
−80
−60
−40
−20
0
20
40
60
80
3953
3954
3955
3956
2800
2600
2400
2200
2000
1800
1600
1400
1200
1000
800
600
400
200
0
200
Age (cal years BP)

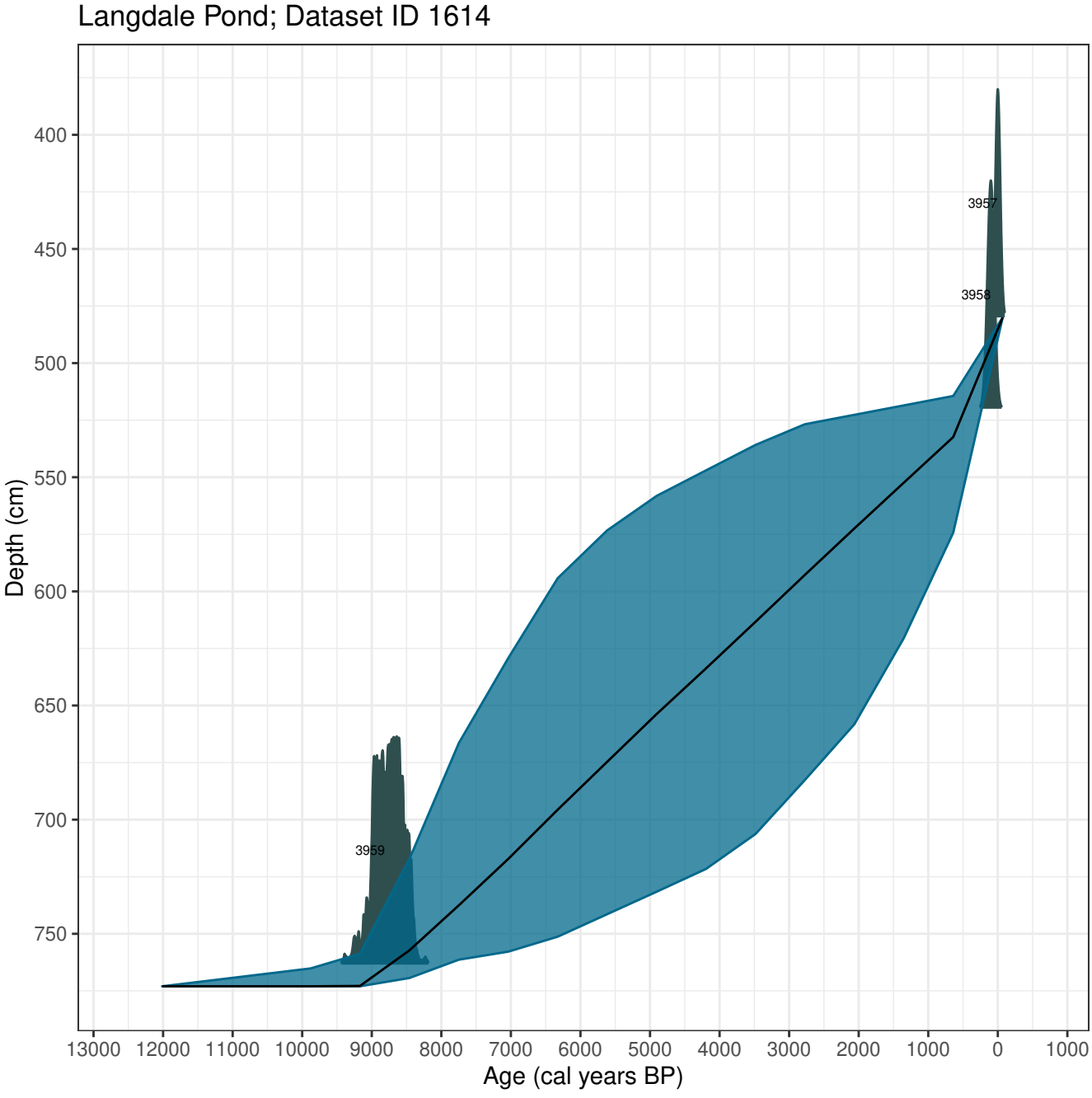
Langdale Pond; Dataset ID 1614
Depth (cm)
400
450
500
550
600
650
700
750
3957
3958
3959
13000
12000
11000
10000
9000
8000
7000
6000
5000
4000
3000
2000
1000
0
1000
Age (cal years BP)

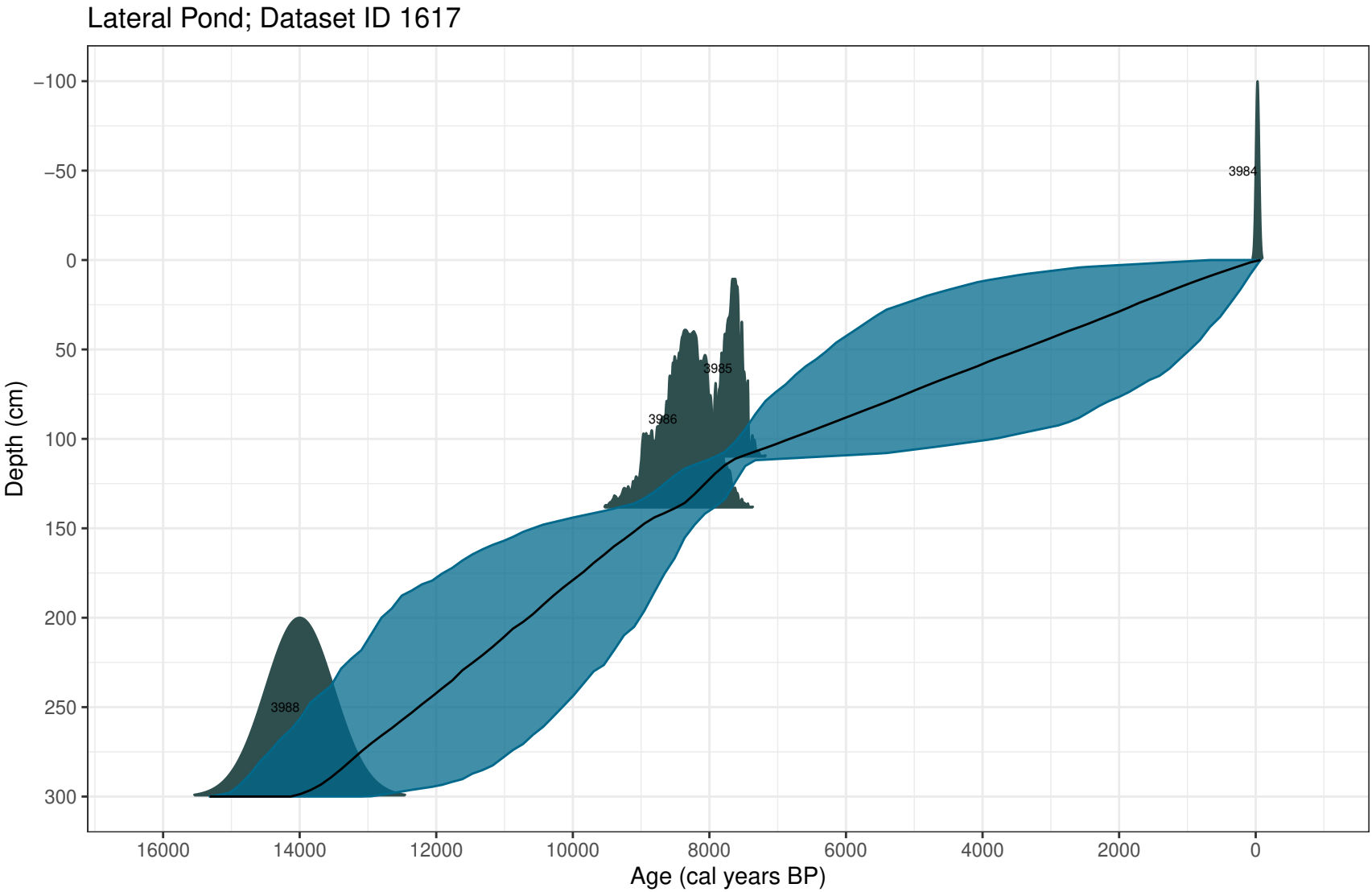
Lateral Pond; Dataset ID 1617
Depth (cm)
−100
−50
0
50
100
150
200
250
300
3984
3985
3986
3988
16000
14000
12000
10000
8000
6000
4000
2000
0
Age (cal years BP)

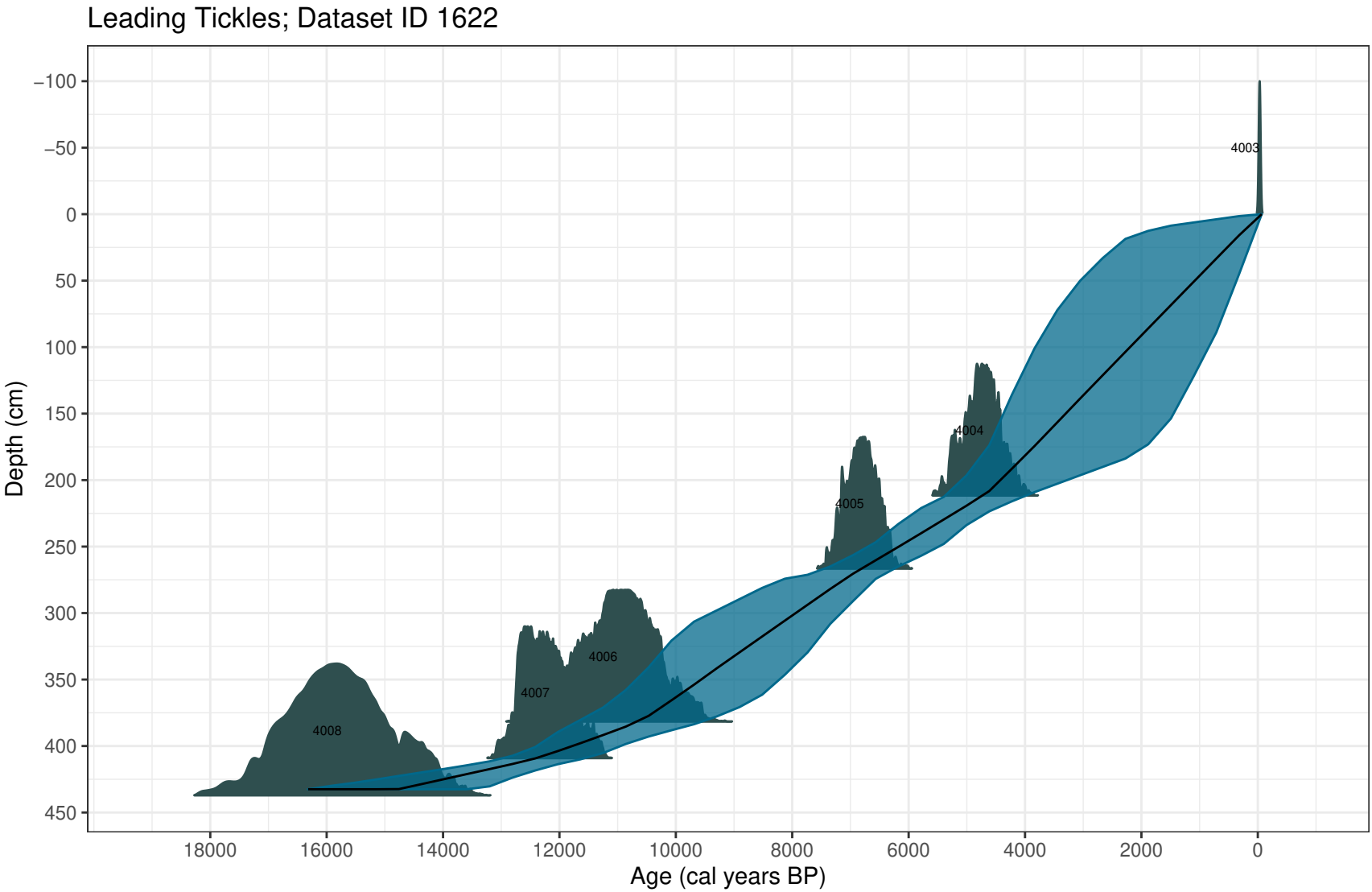
Leading Tickles; Dataset ID 1622
Depth (cm)
−100
−50
0
50
100
150
200
250
300
350
400
450
Age (cal years BP)
18000
16000
14000
12000
10000
8000
6000
4000
2000
0
4003
4004
4005
4006
4007
4008

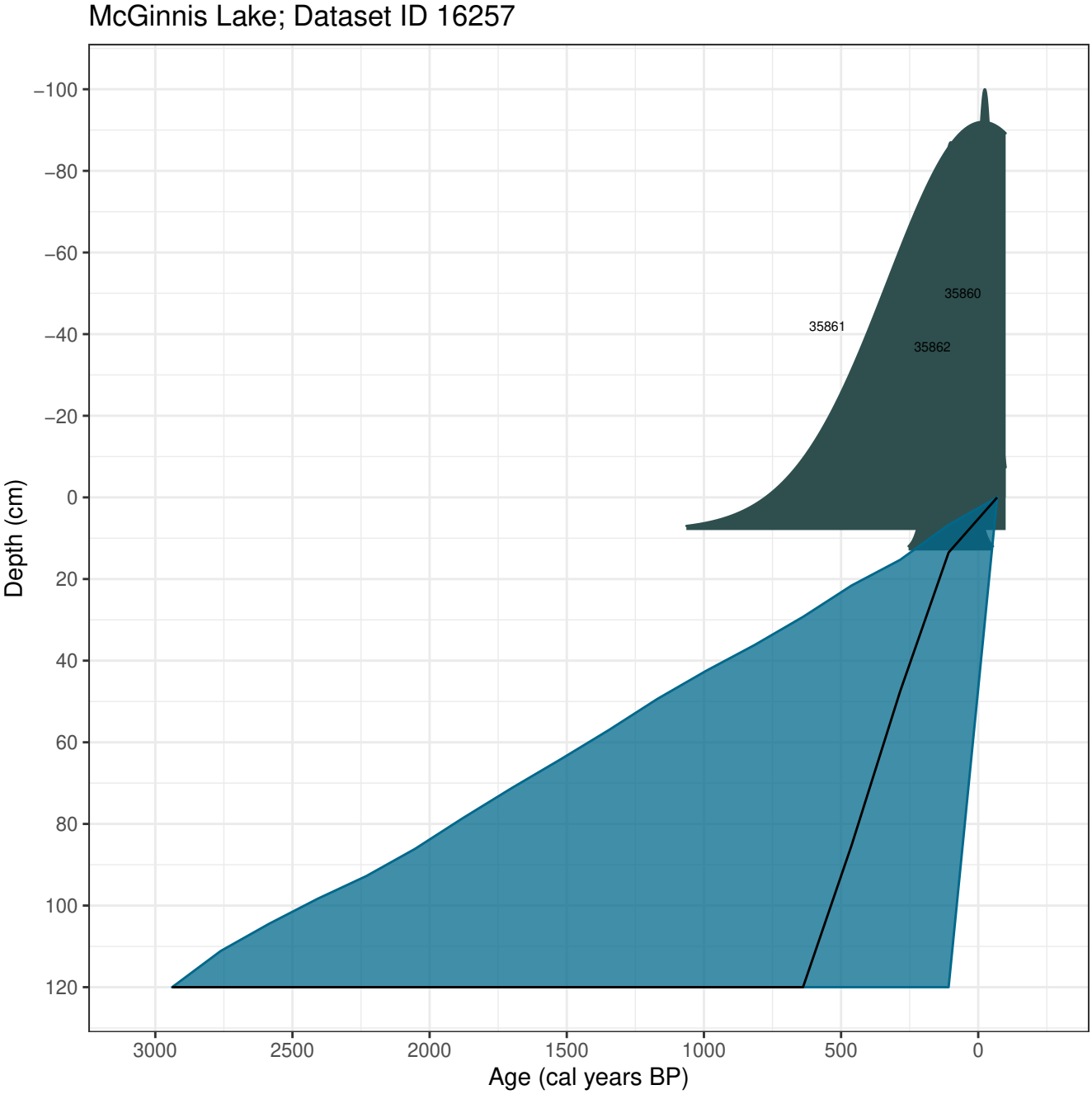
McGinnis Lake; Dataset ID 16257
Depth (cm)
−100
−80
−60
−40
−20
0
20
40
60
80
100
120
35860
35861
35862
3000
2500
2000
1500
1000
500
0
Age (cal years BP)

Lac à Léonard; Dataset ID 1626

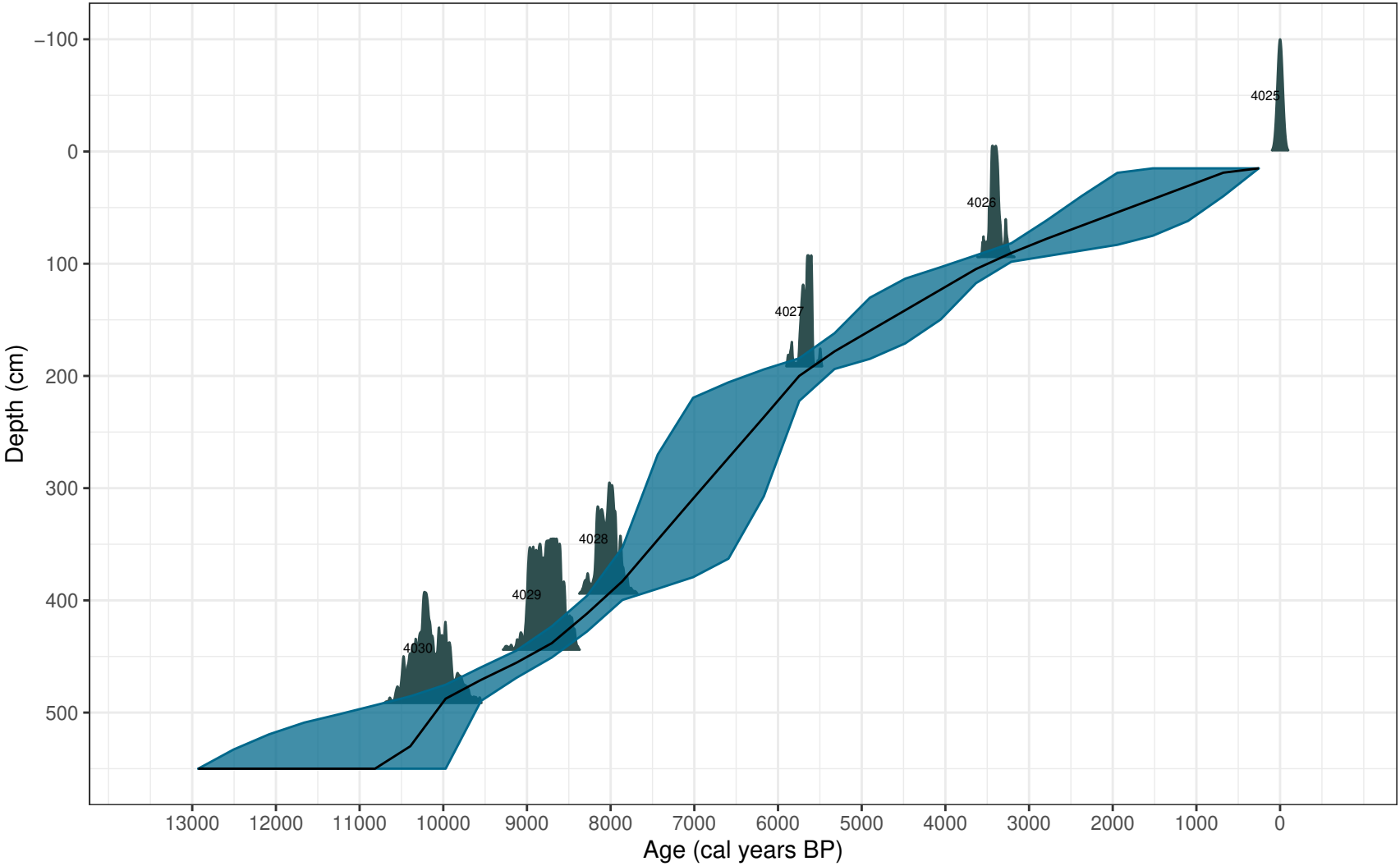

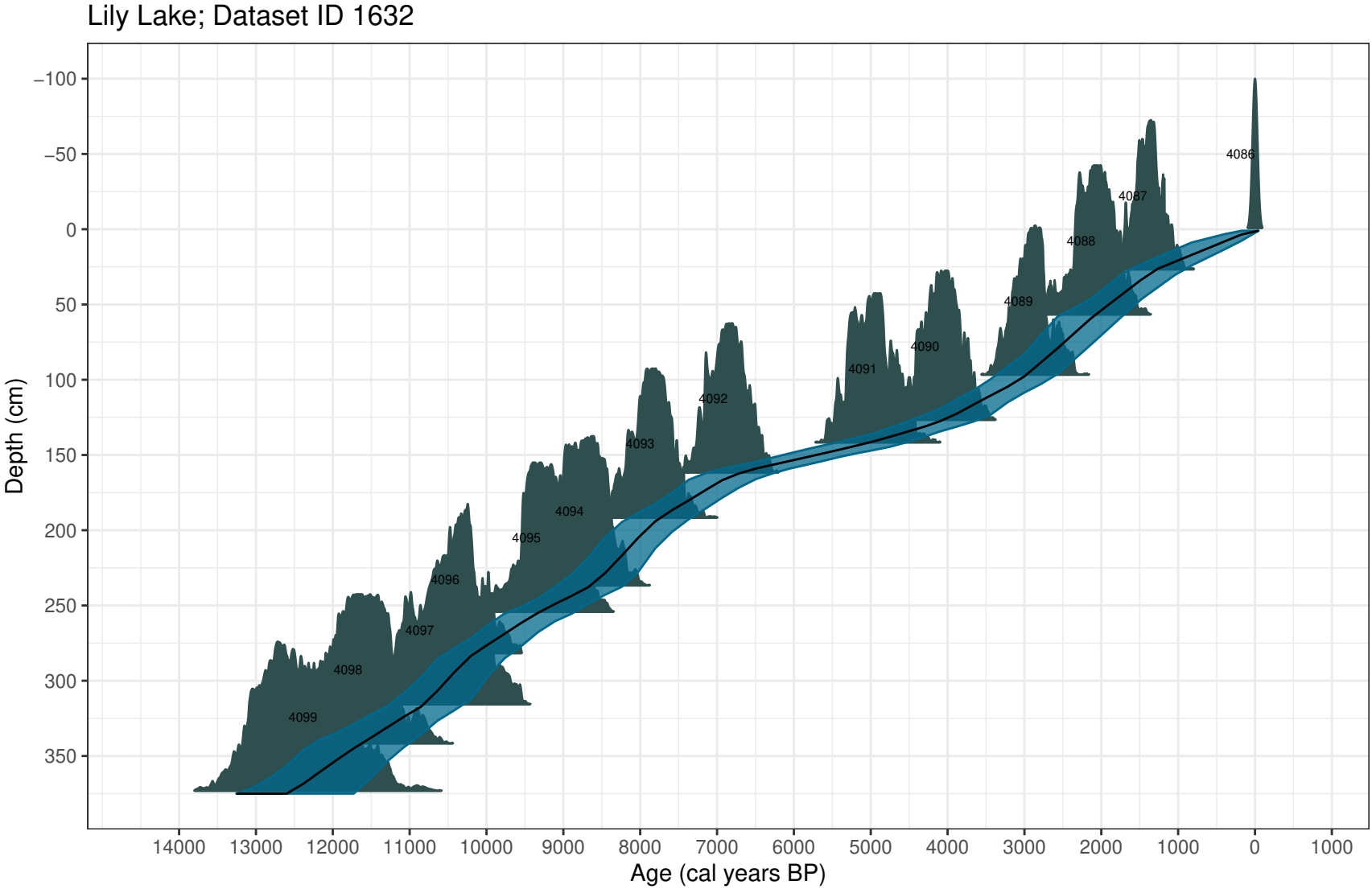
Lily Lake; Dataset ID 1632
Depth (cm)
−100
−50
0
50
100
150
200
250
300
350
Age (cal years BP)
14000
13000
12000
11000
10000
9000
8000
7000
6000
5000
4000
3000
2000
1000
0
1000
4086
4087
4088
4089
4090
4091
4092
4093
4094
4095
4096
4097
4098
4099

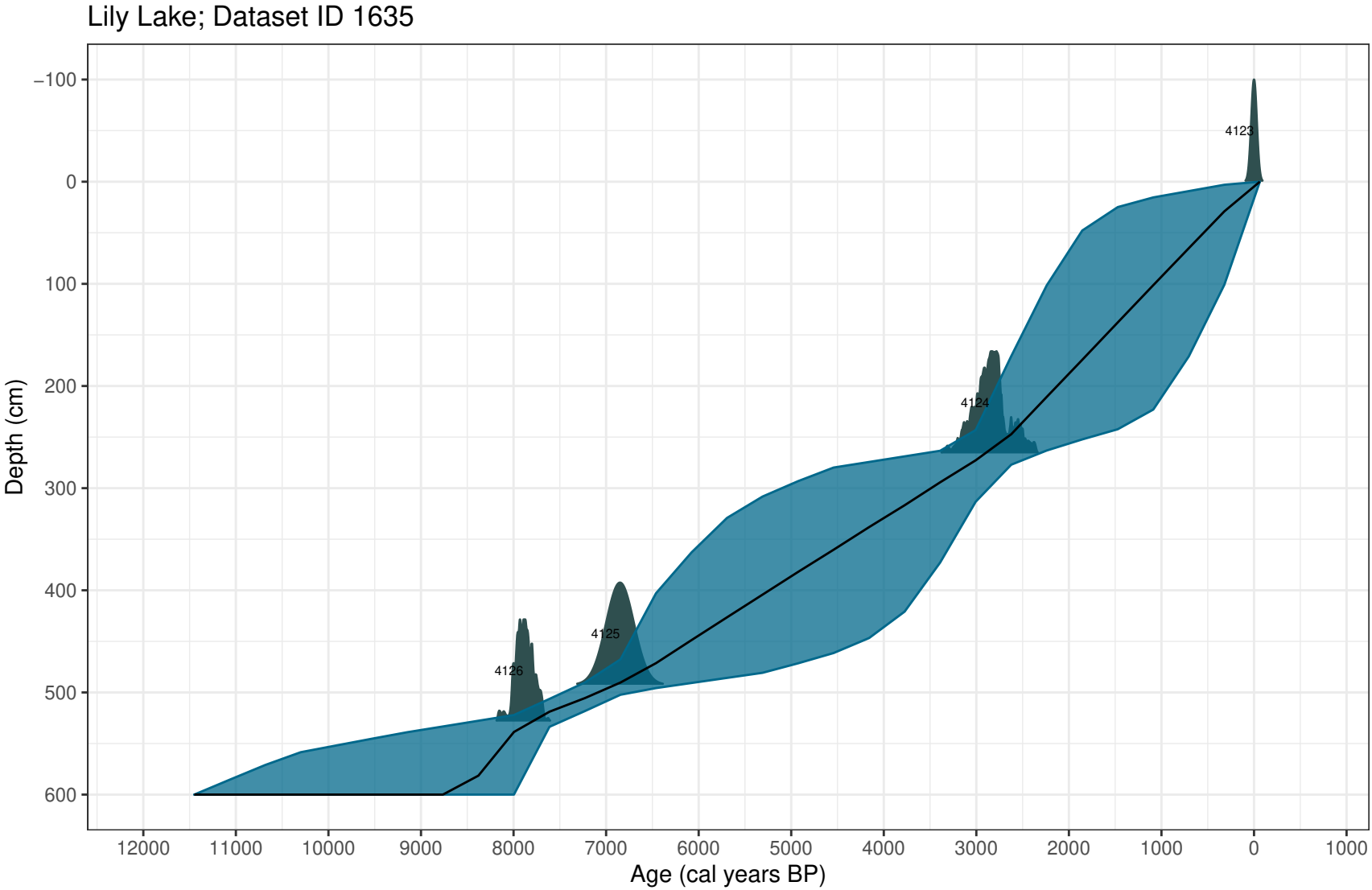
Lily Lake; Dataset ID 1635
Depth (cm)
−100
0
100
200
300
400
500
600
Age (cal years BP)
12000
11000
10000
9000
8000
7000
6000
5000
4000
3000
2000
1000
0
1000
4123
4124
4125
4126

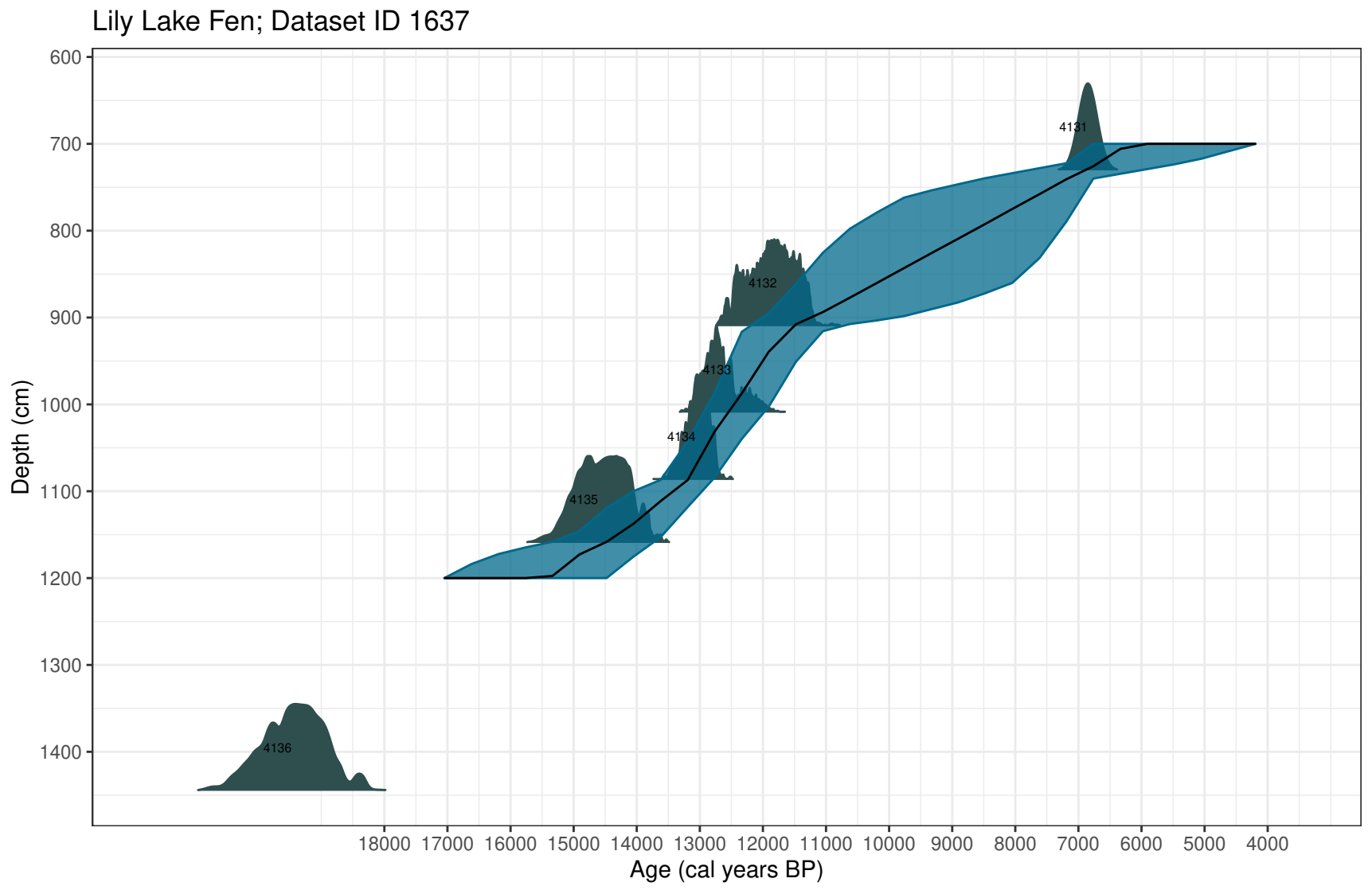
Lily Lake Fen; Dataset ID 1637
Depth (cm)
600
700
800
900
1000
1100
1200
1300
1400
4131
4132
4133
4134
4135
4136
18000
17000
16000
15000
14000
13000
12000
11000
10000
9000
8000
7000
6000
5000
4000
Age (cal years BP)

Little Lake; Dataset ID 1642

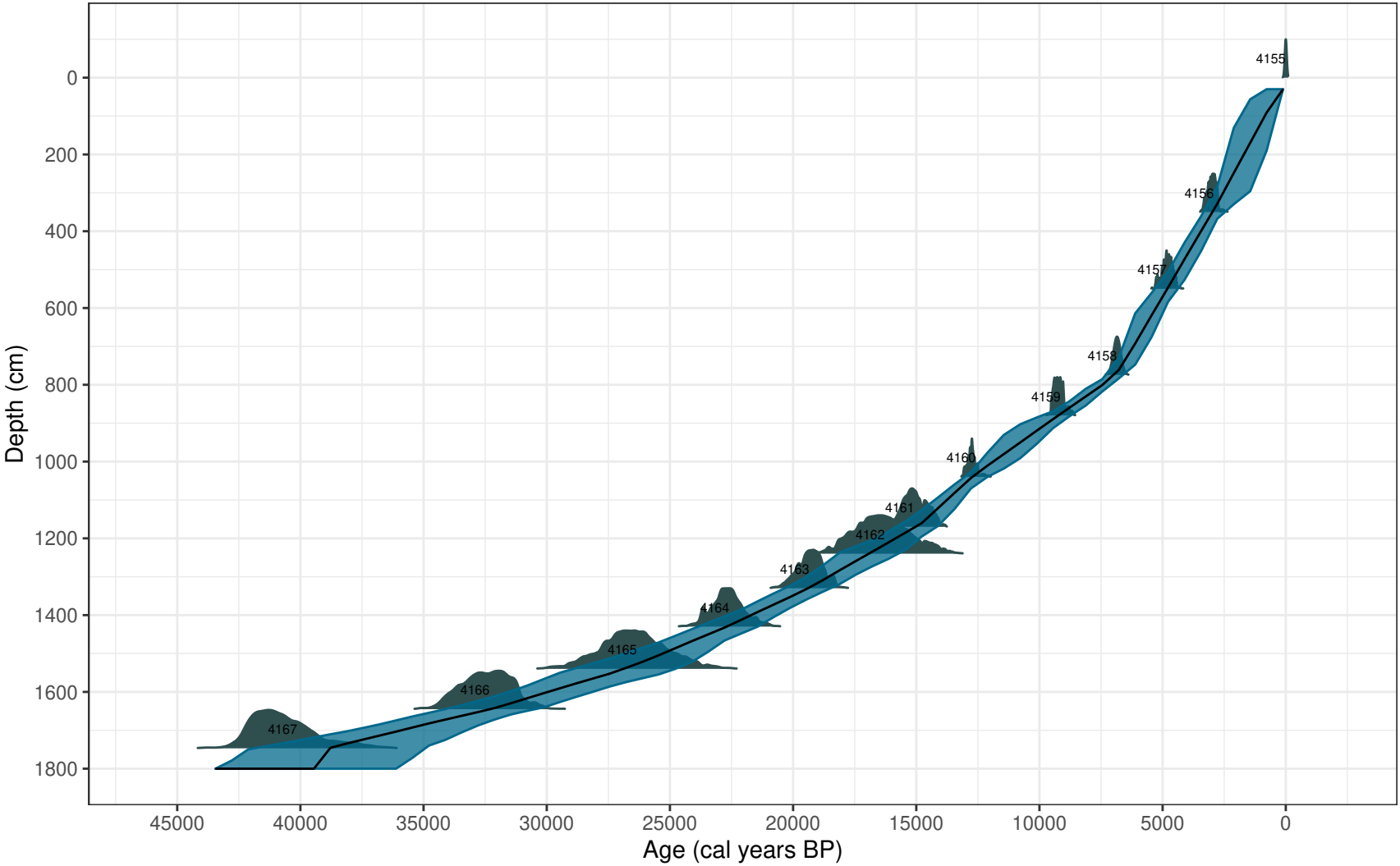

LDDsite5772; Dataset ID 1644

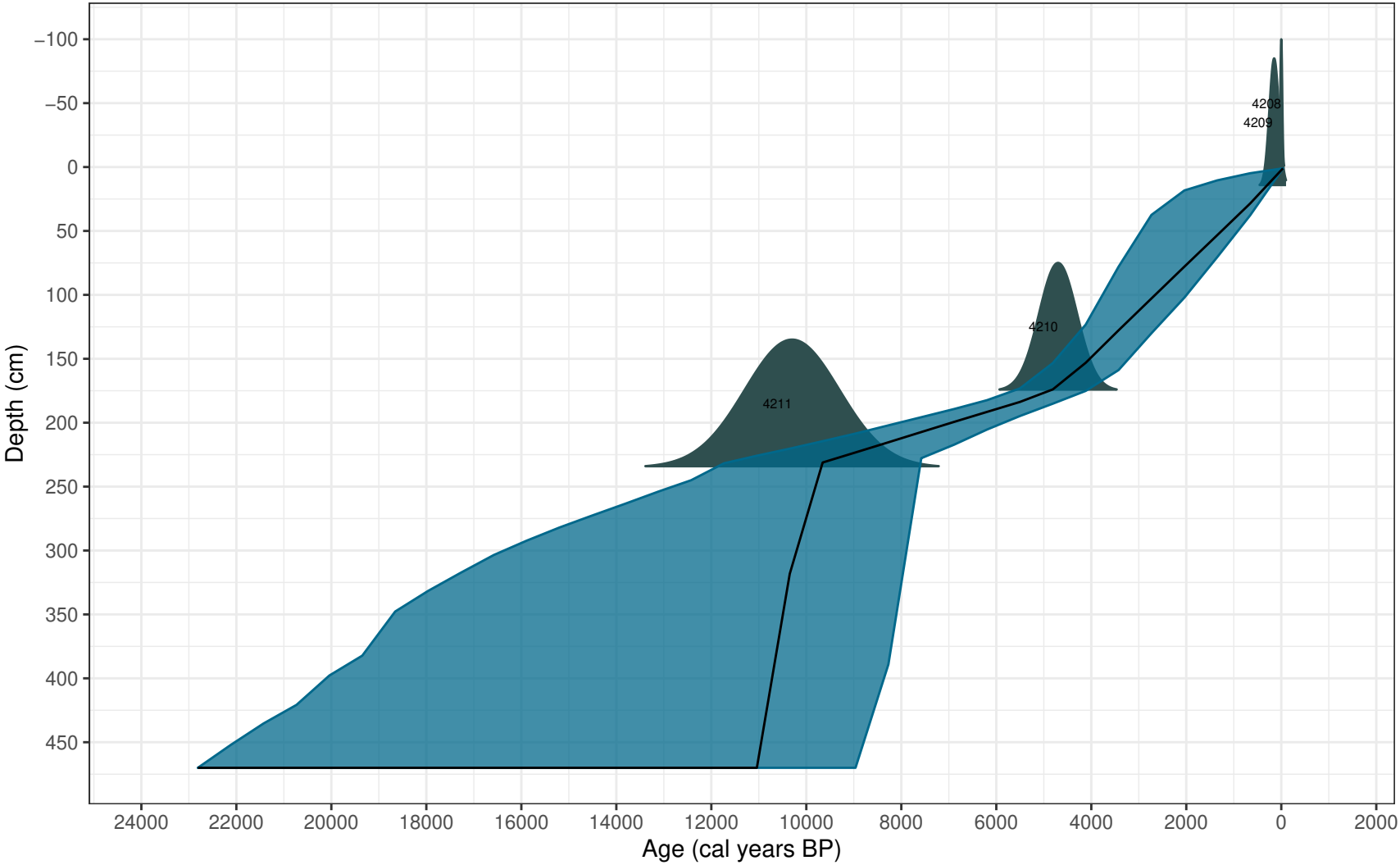

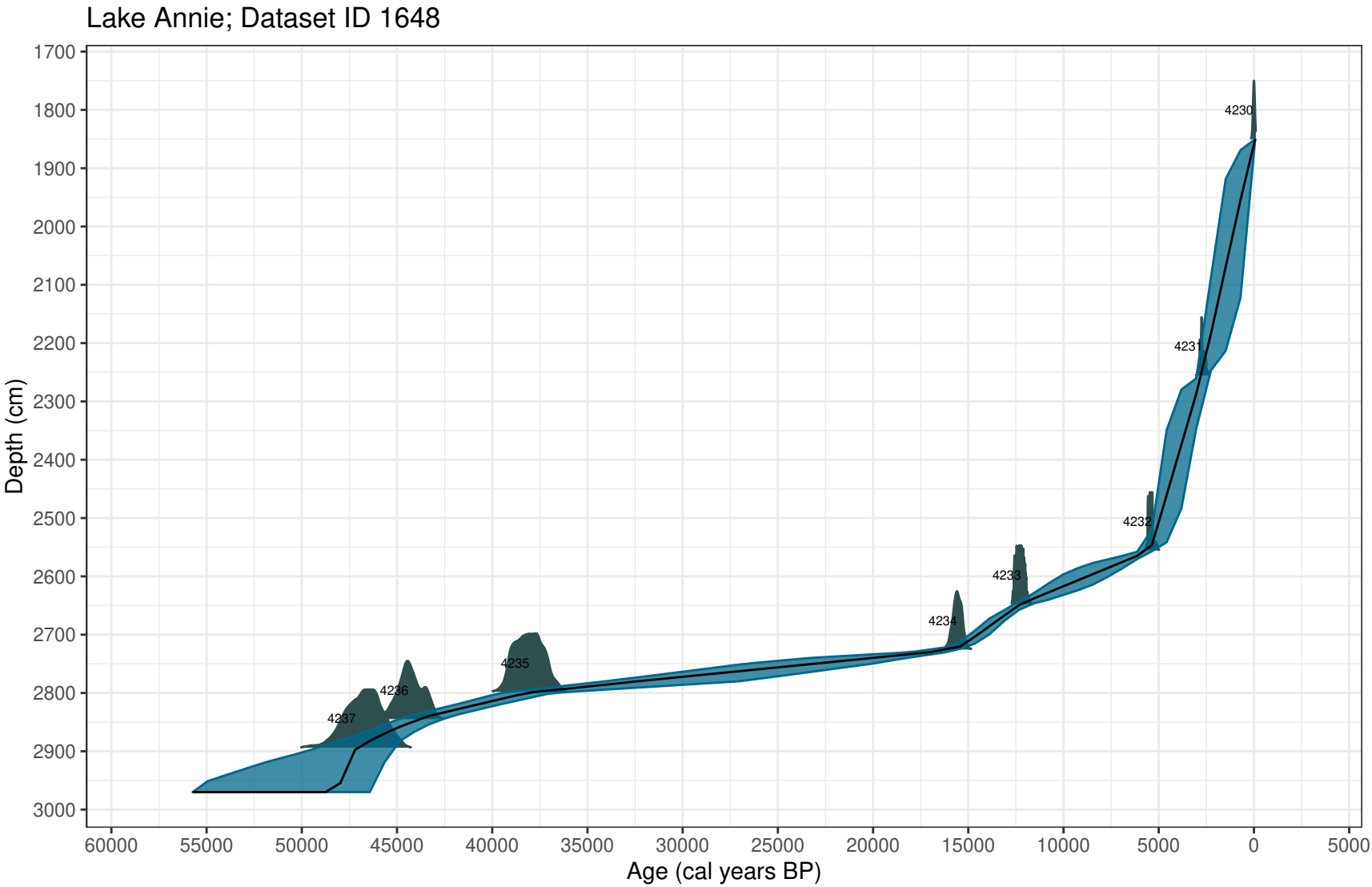
Lake Annie; Dataset ID 1648
Depth (cm)
1700
1800
1900
2000
2100
2200
2300
2400
2500
2600
2700
2800
2900
3000
Age (cal years BP)
60000
55000
50000
45000
40000
35000
30000
25000
20000
15000
10000
5000
0
5000
4230
4231
4232
4233
4234
4235
4236
4237

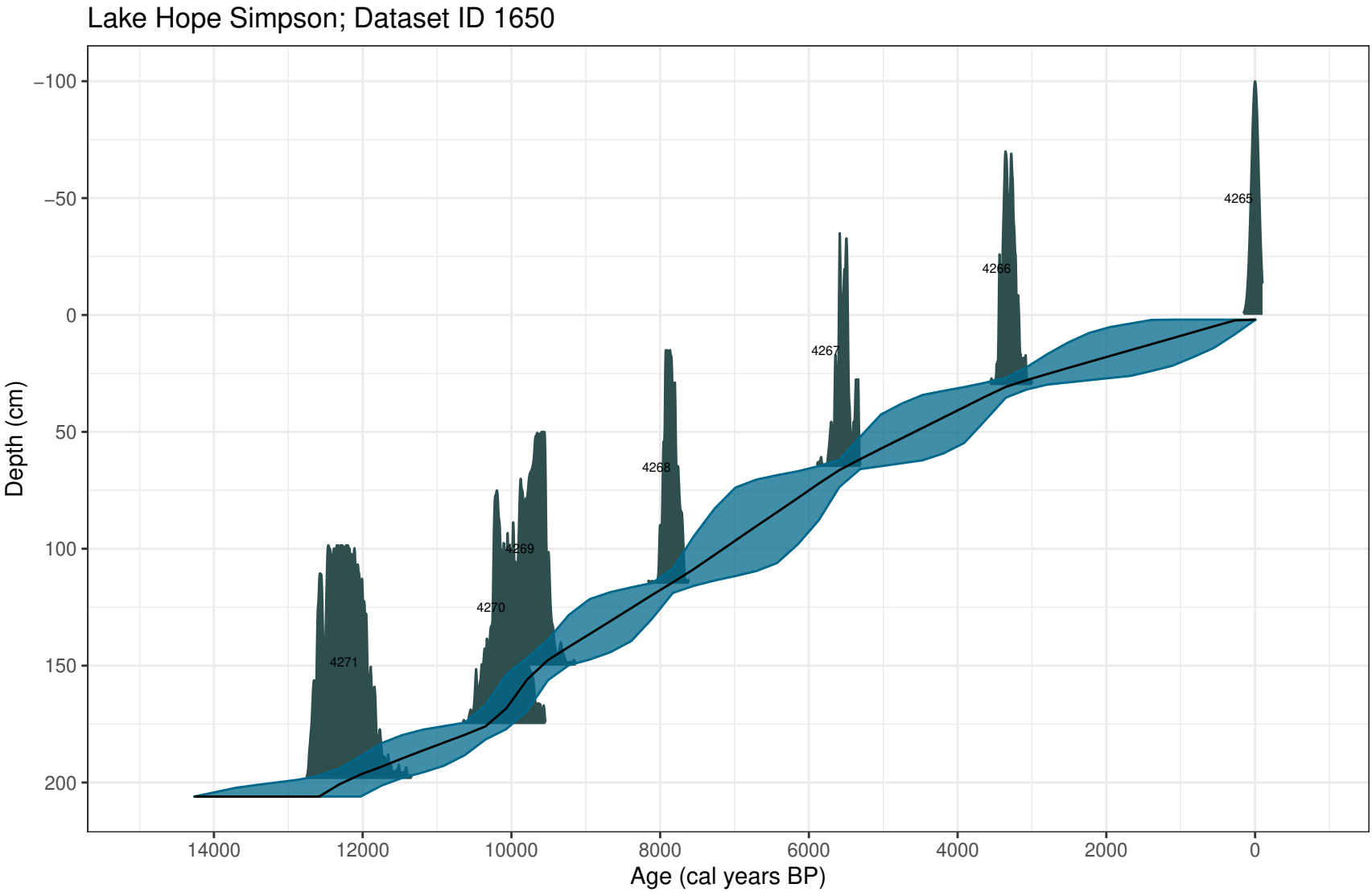
Lake Hope Simpson; Dataset ID 1650
Depth (cm)
−100
−50
0
50
100
150
200
Age (cal years BP)
14000
12000
10000
8000
6000
4000
2000
0
4265
4266
4267
4268
4269
4270
4271

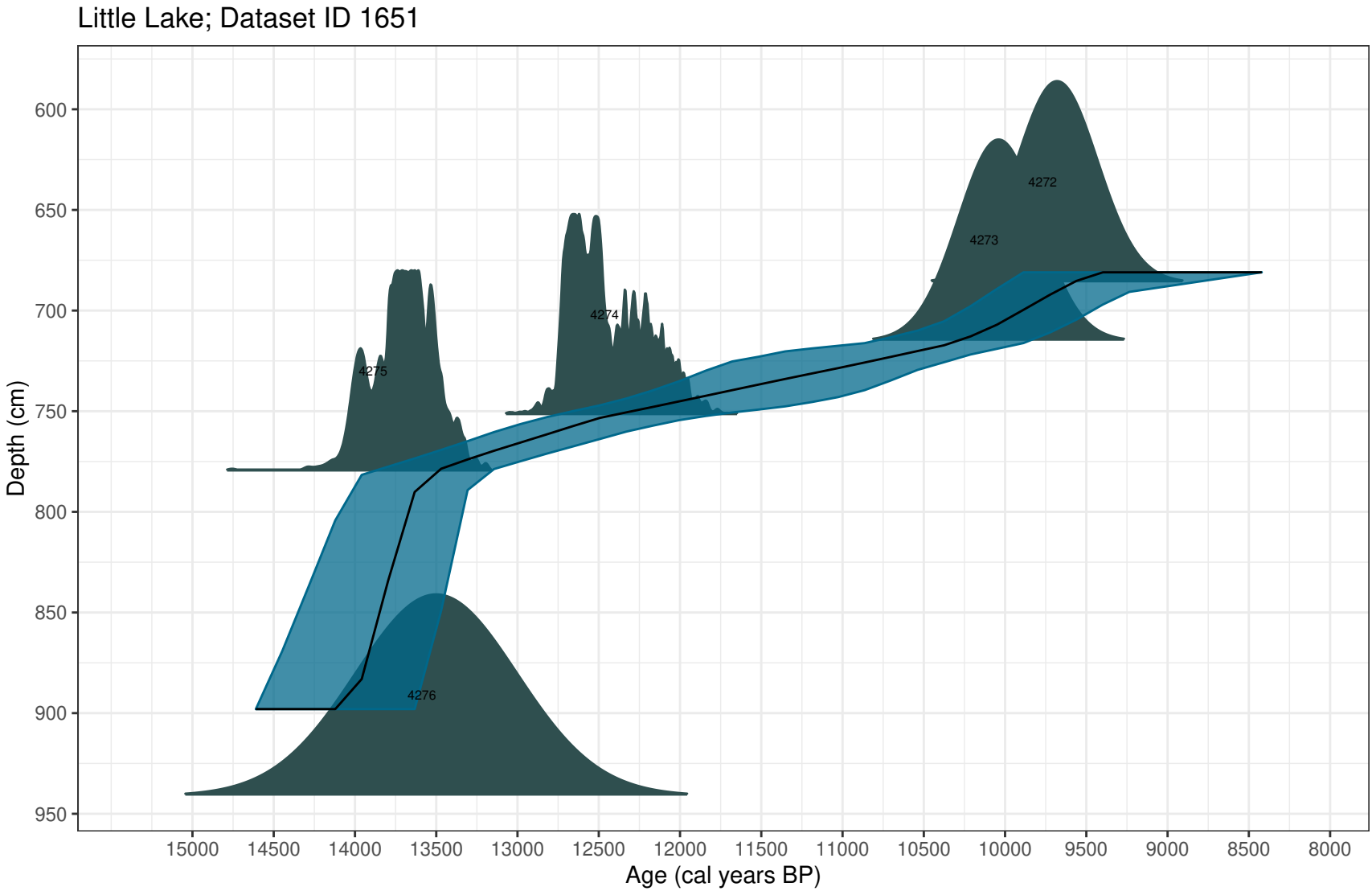
Little Lake; Dataset ID 1651
Depth (cm)
600
650
700
750
800
850
900
950
Age (cal years BP)
15000
14500
14000
13500
13000
12500
12000
11500
11000
10500
10000
9500
9000
8500
8000
4272
4273
4274
4275
4276

Lockport Gulf Section; Dataset ID 1655

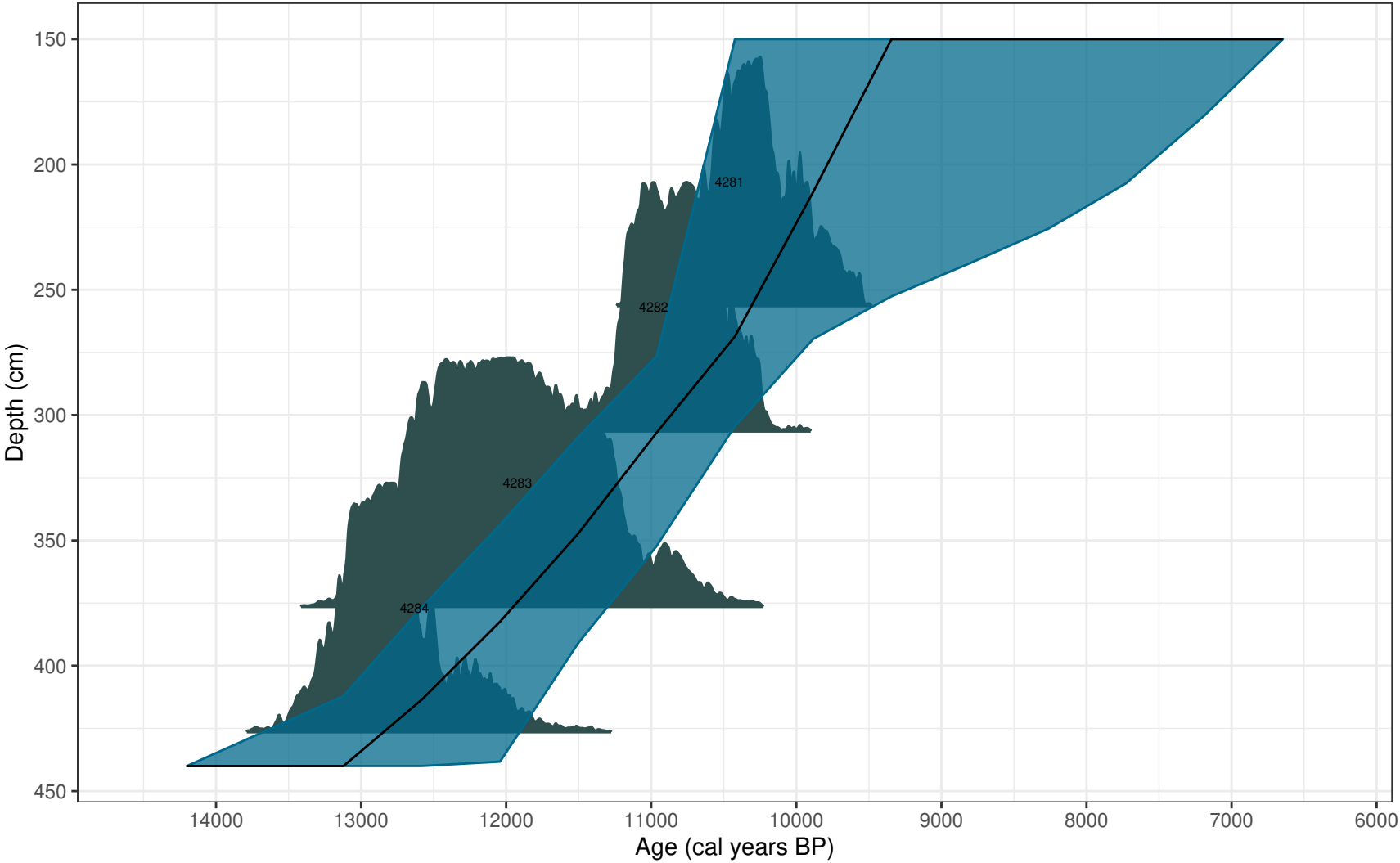

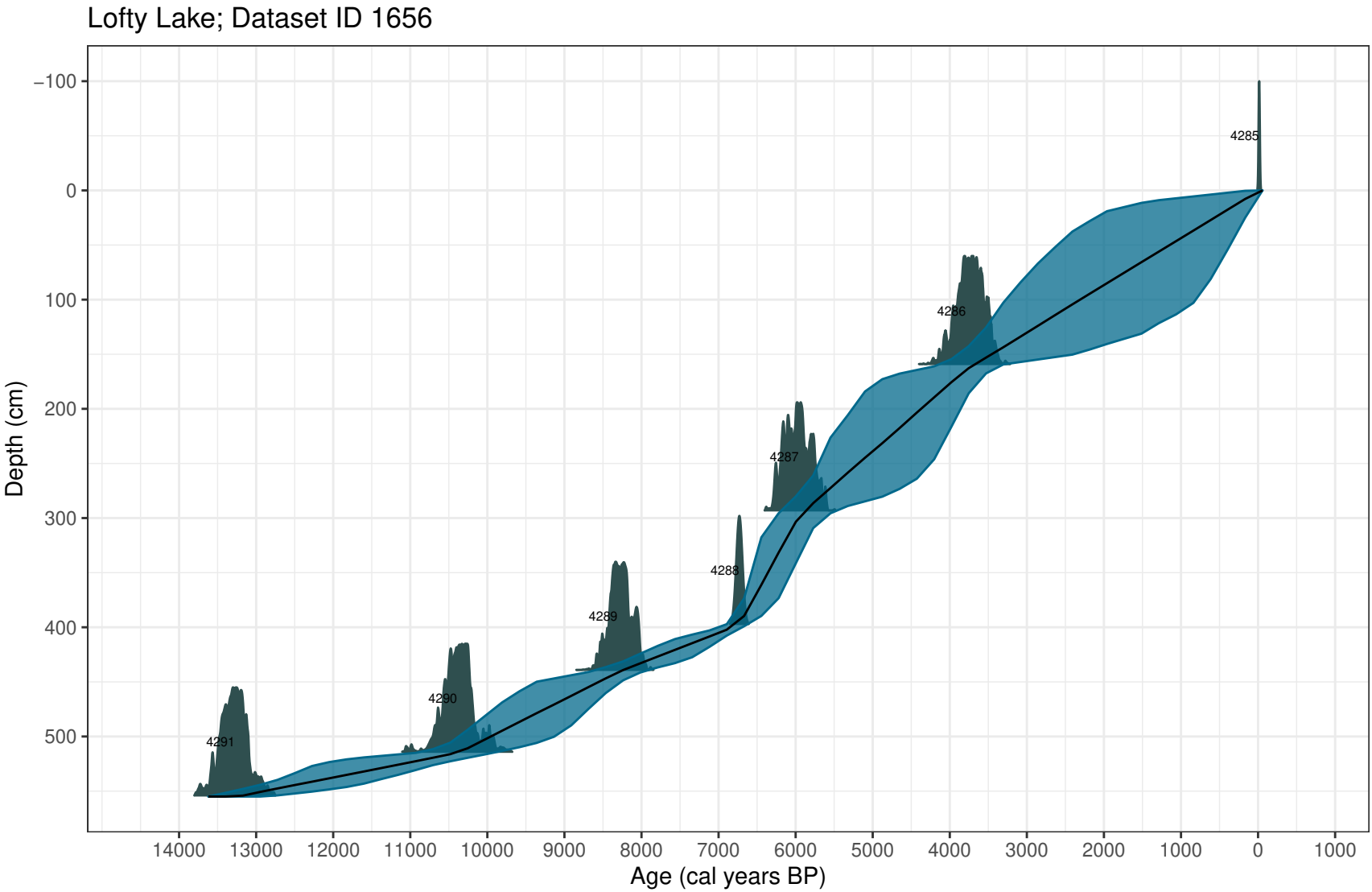
Lofty Lake; Dataset ID 1656
Depth (cm)
−100
0
100
200
300
400
500
Age (cal years BP)
14000
13000
12000
11000
10000
9000
8000
7000
6000
5000
4000
3000
2000
1000
0
1000
4285
4286
4287
4288
4289
4290
4291

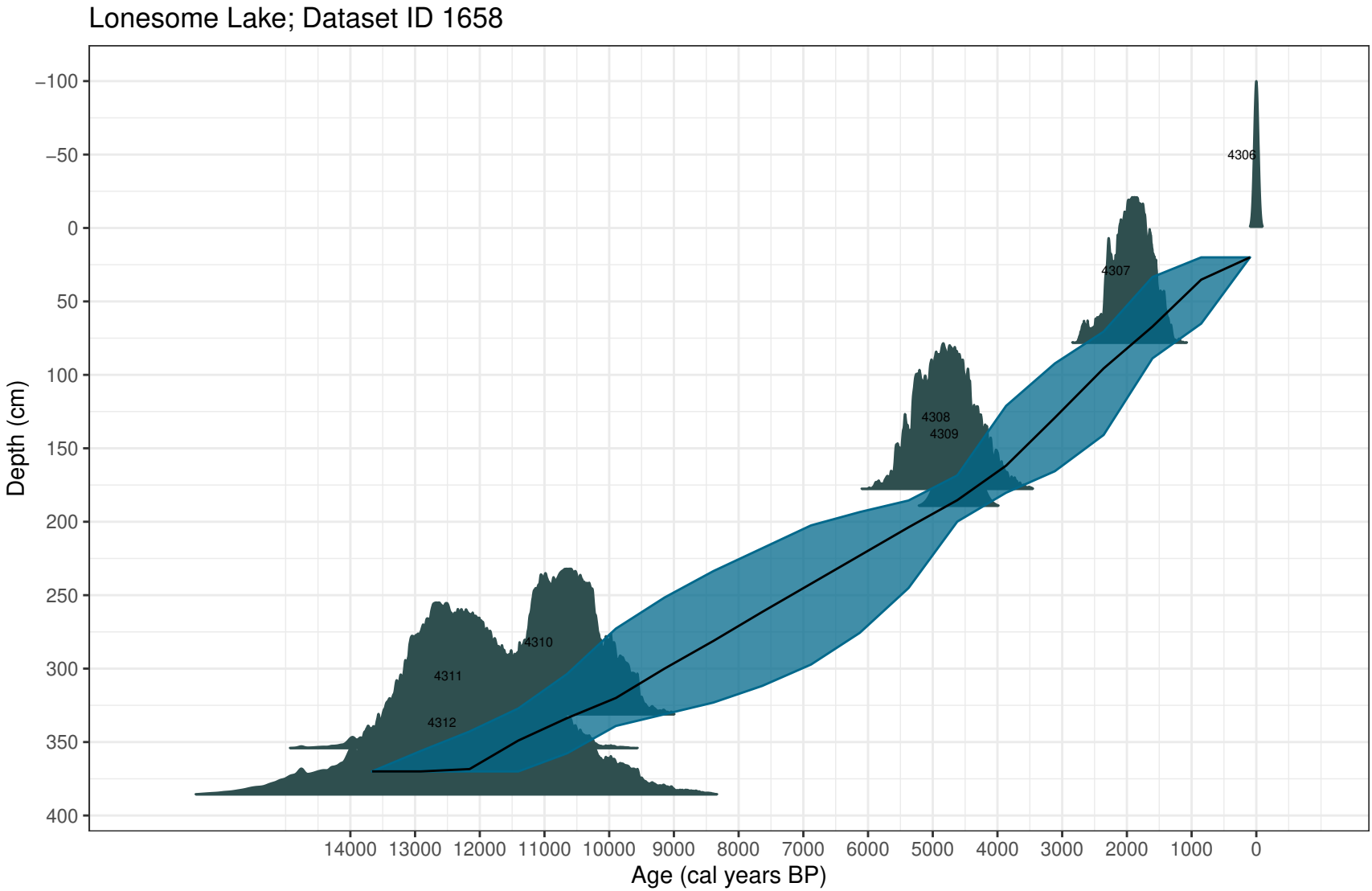
Lonesome Lake; Dataset ID 1658
Depth (cm)
−100
−50
0
50
100
150
200
250
300
350
400
Age (cal years BP)
14000
13000
12000
11000
10000
9000
8000
7000
6000
5000
4000
3000
2000
1000
0
4306
4307
4308
4309
4310
4311
4312

Long Lake (CA:Nunavut); Dataset ID 1659

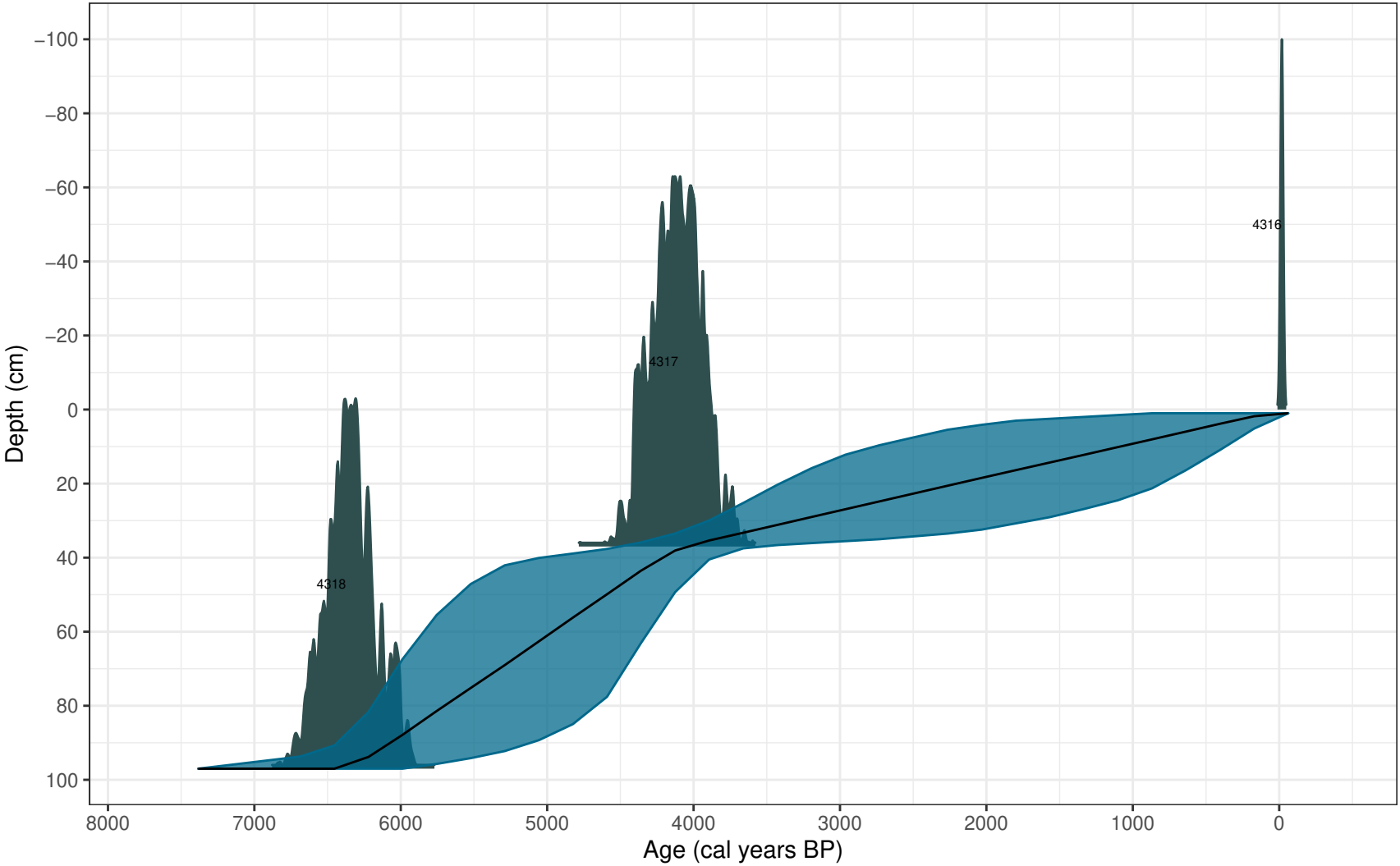

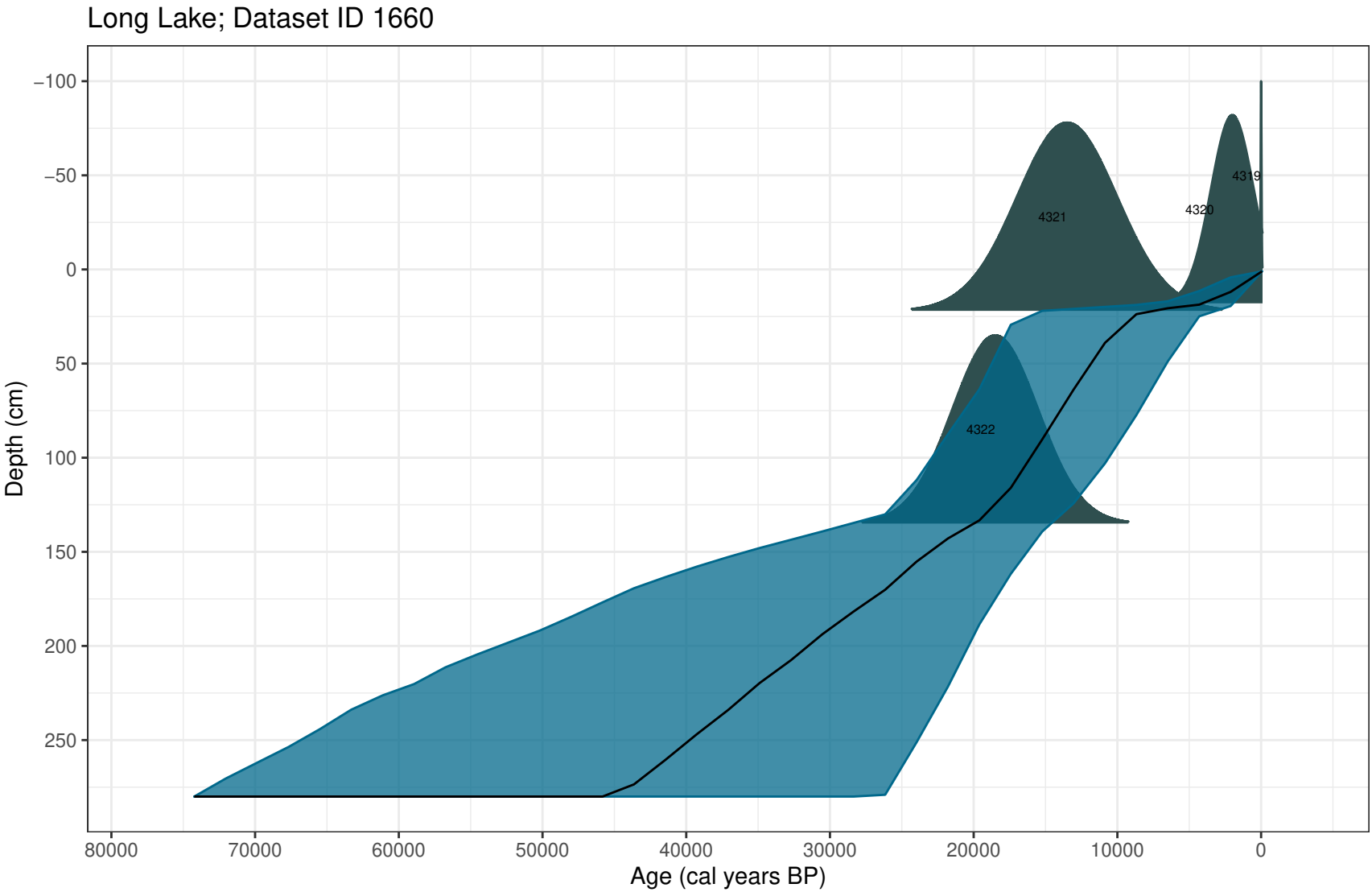
Long Lake; Dataset ID 1660
Depth (cm)
−100
−50
0
50
100
150
200
250
4321
4320
4319
4322
80000
70000
60000
50000
40000
30000
20000
10000
0
Age (cal years BP)

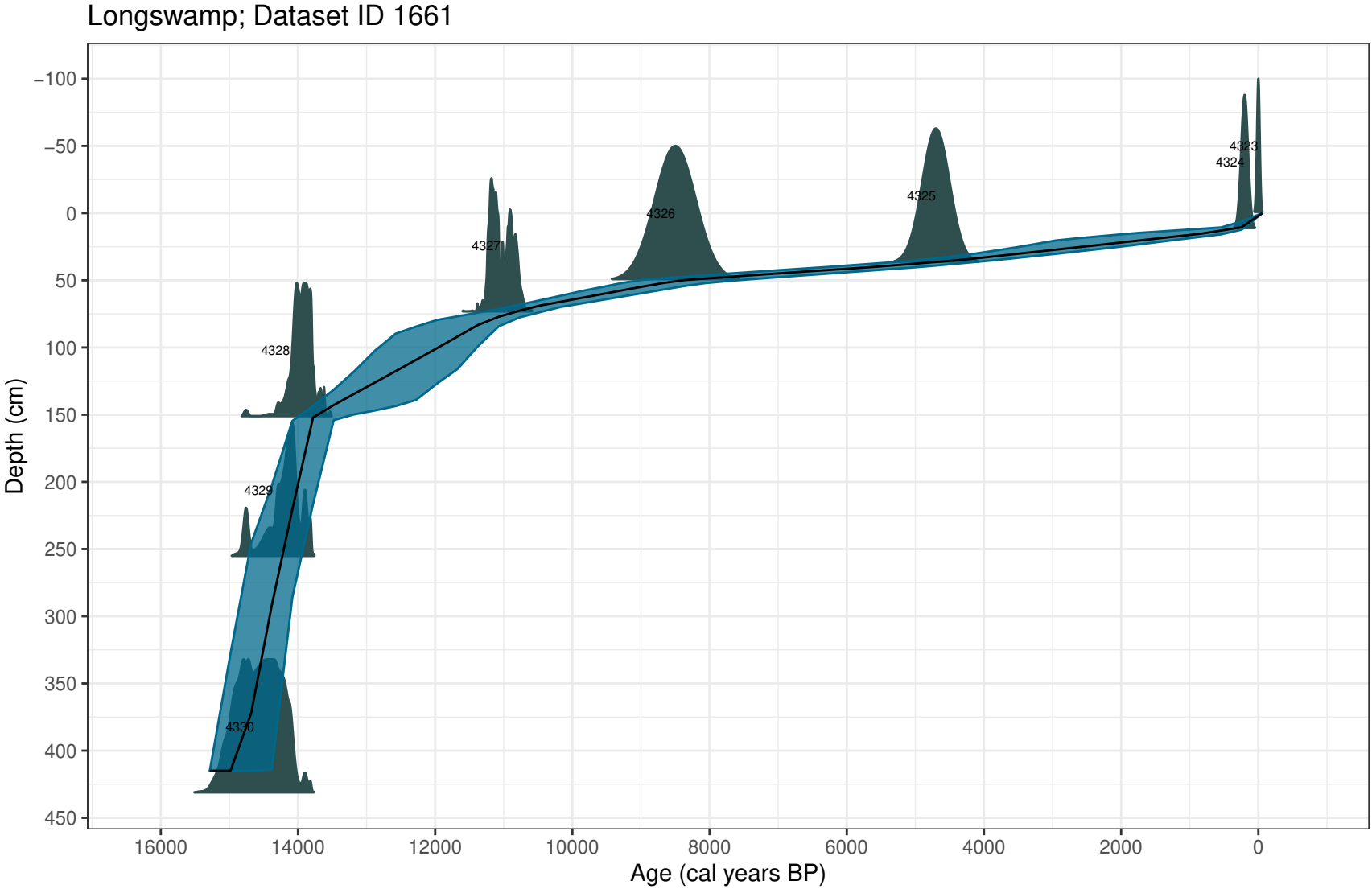
Longswamp; Dataset ID 1661
Depth (cm)
Age (cal years BP)
−100
−50
0
50
100
150
200
250
300
350
400
450
16000
14000
12000
10000
8000
6000
4000
2000
0
4323
4324
4325
4326
4327
4328
4329
4330

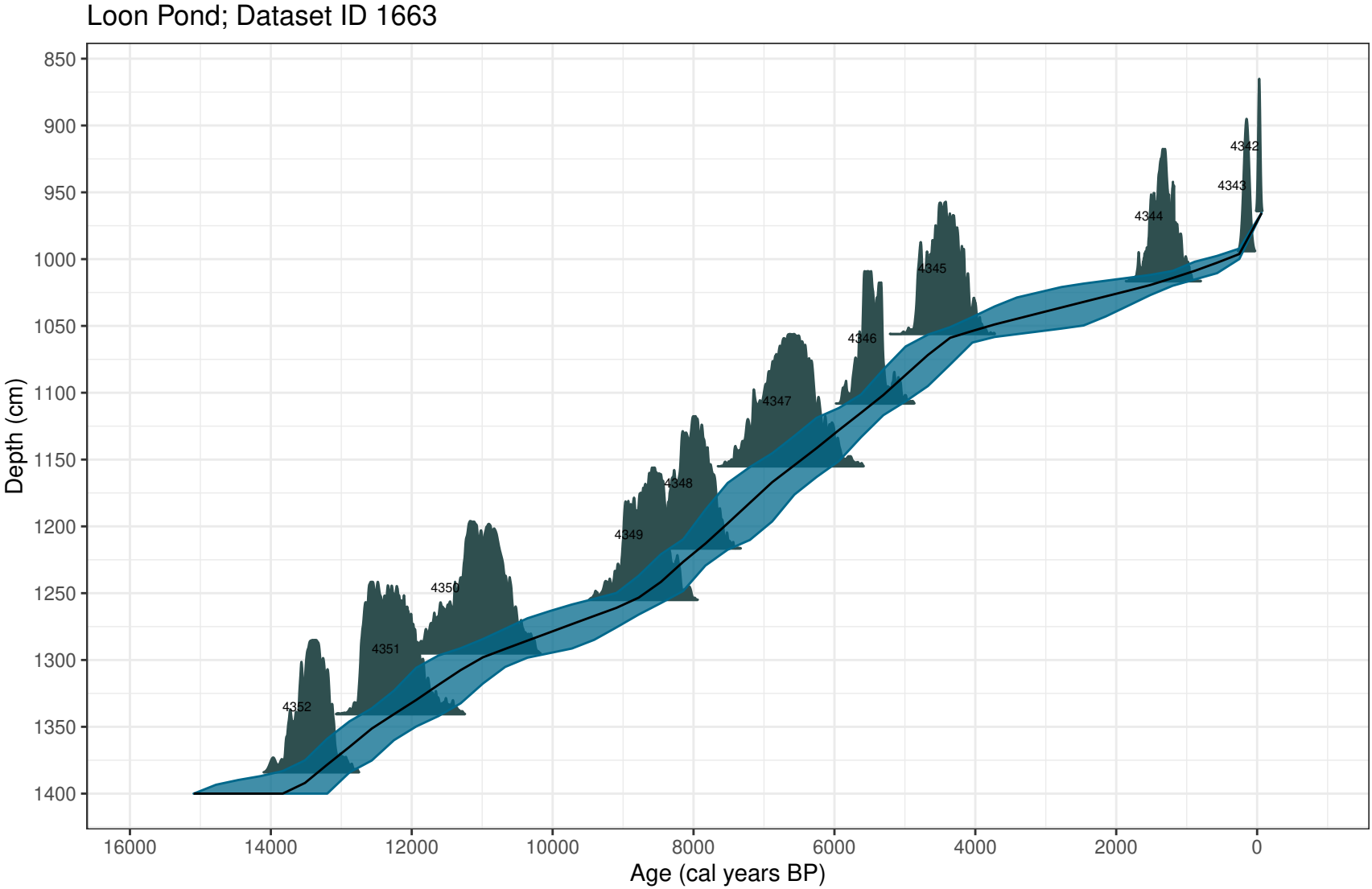
Loon Pond; Dataset ID 1663
Depth (cm)
850
900
950
1000
1050
1100
1150
1200
1250
1300
1350
1400
Age (cal years BP)
16000
14000
12000
10000
8000
6000
4000
2000
0
4342
4343
4344
4345
4346
4347
4348
4349
4350
4351
4352

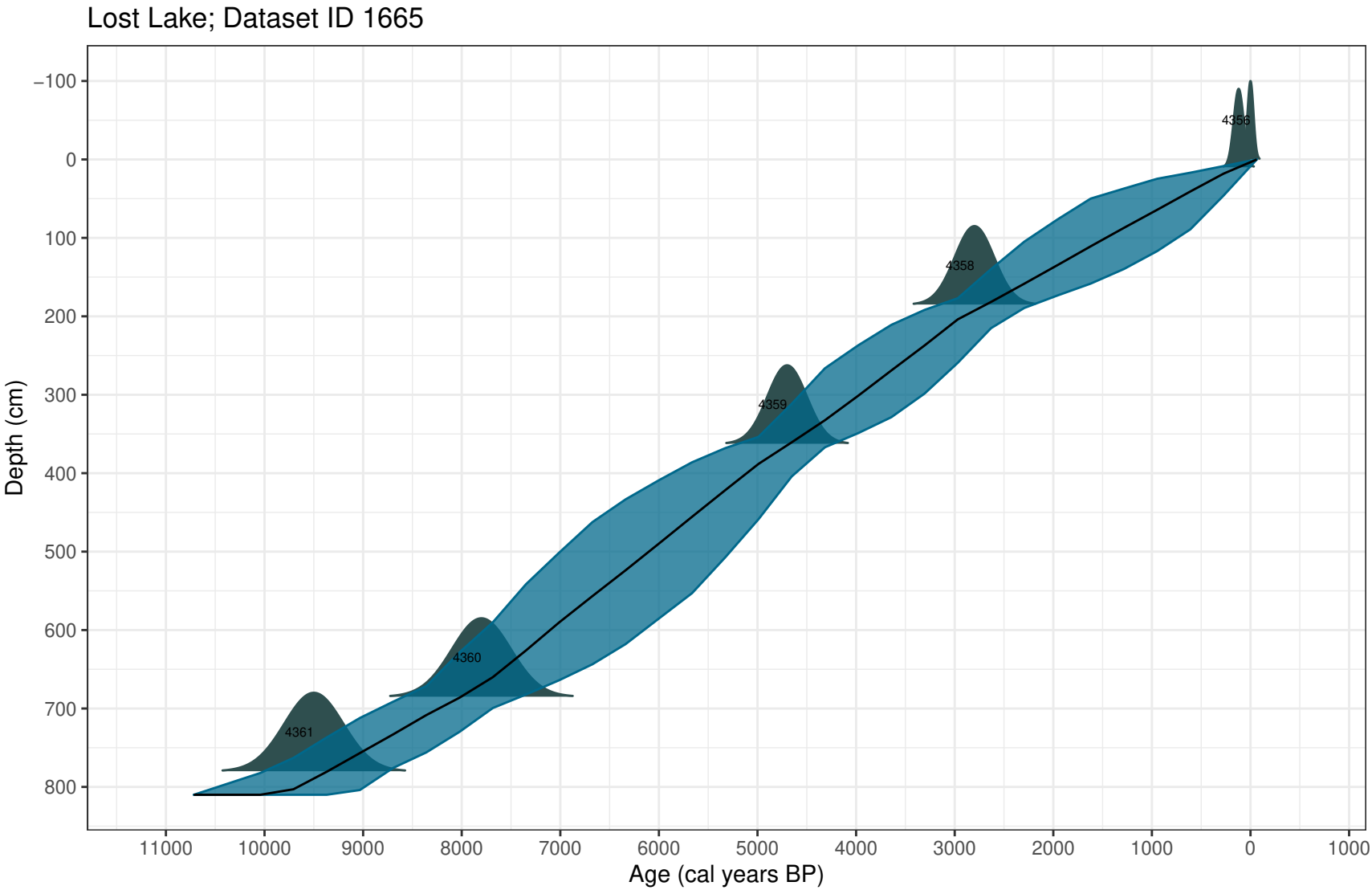
Lost Lake; Dataset ID 1665
Depth (cm)
−100
0
100
200
300
400
500
600
700
800
Age (cal years BP)
11000
10000
9000
8000
7000
6000
5000
4000
3000
2000
1000
0
1000
4356
4358
4359
4360
4361

Lost Lake; Dataset ID 1666

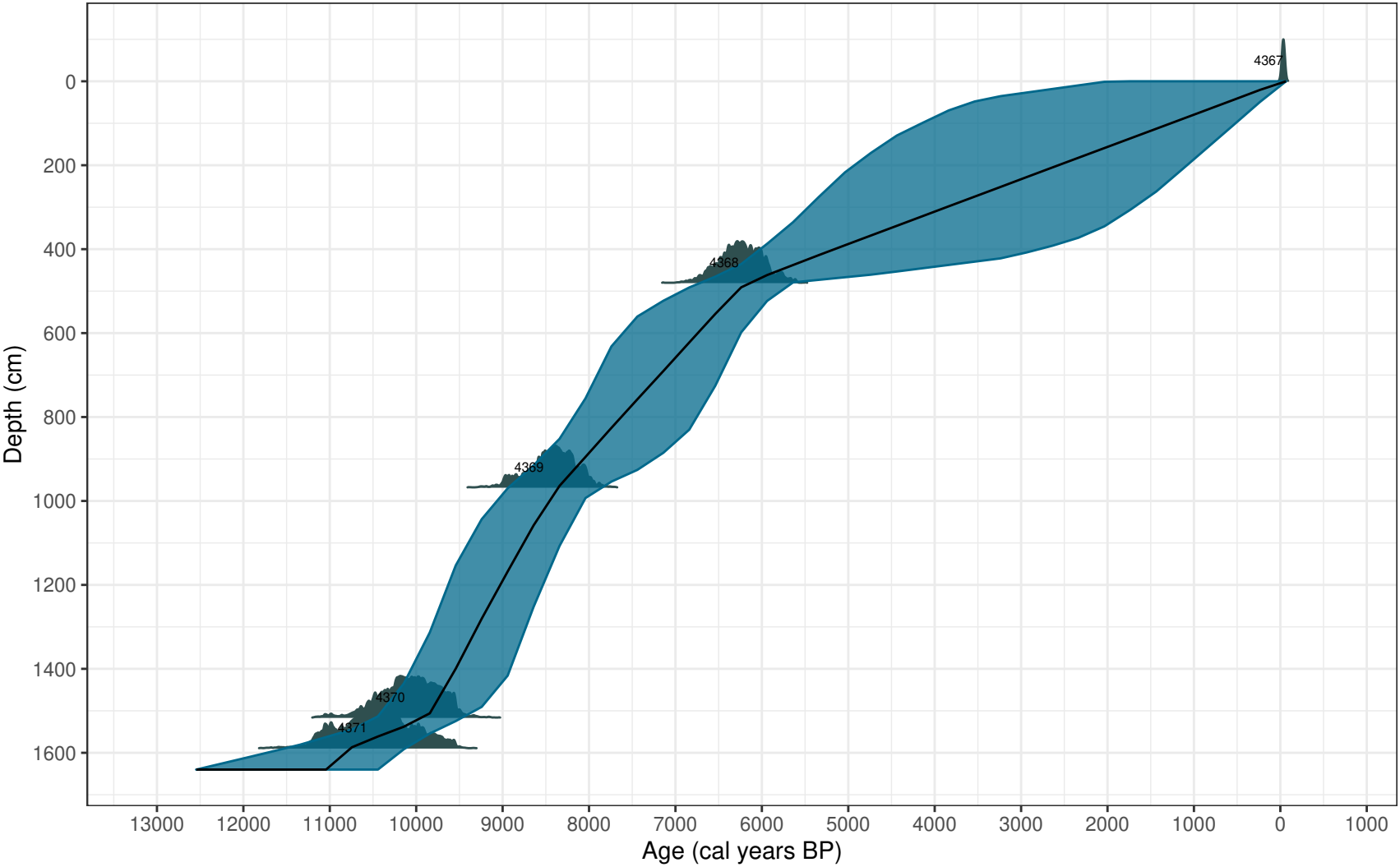

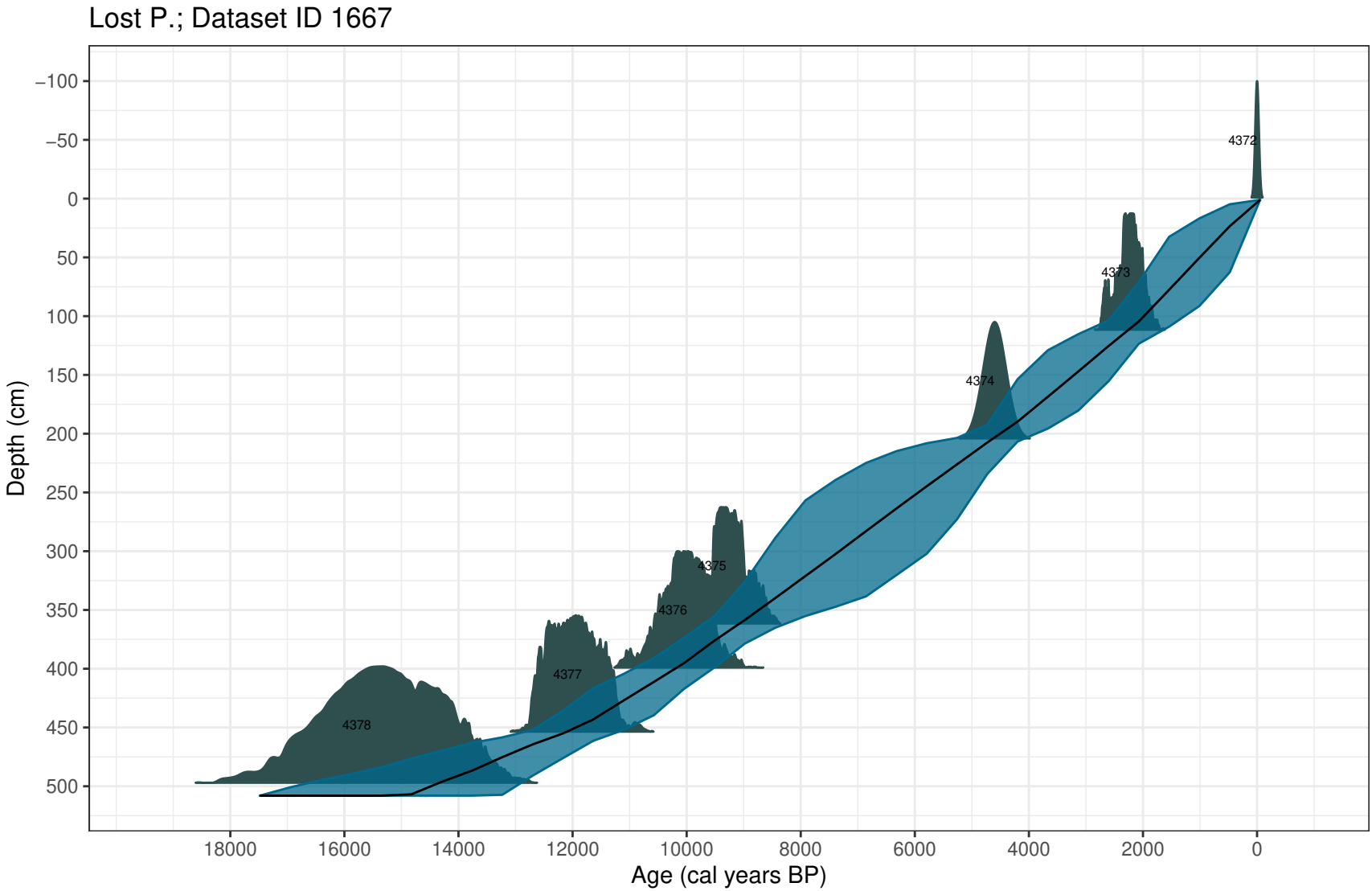
Lost P.; Dataset ID 1667
Depth (cm)
−100
−50
0
50
100
150
200
250
300
350
400
450
500
Age (cal years BP)
18000
16000
14000
12000
10000
8000
6000
4000
2000
0
4372
4373
4374
4375
4376
4377
4378

Louise Pond; Dataset ID 1670

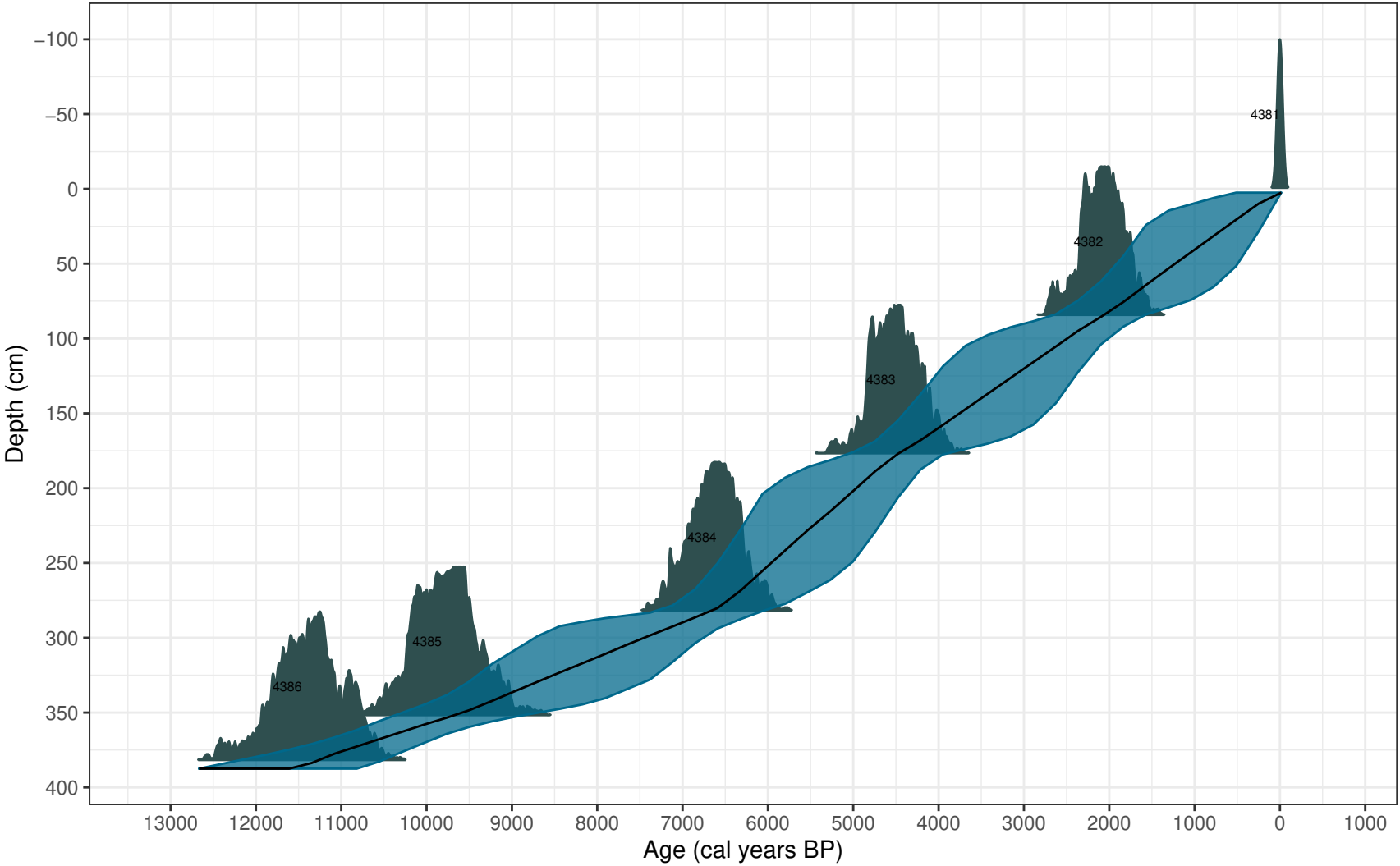

Loxahatchee National Wildlife Refuge Site 1 (EPA Site 7); Dataset ID 1671

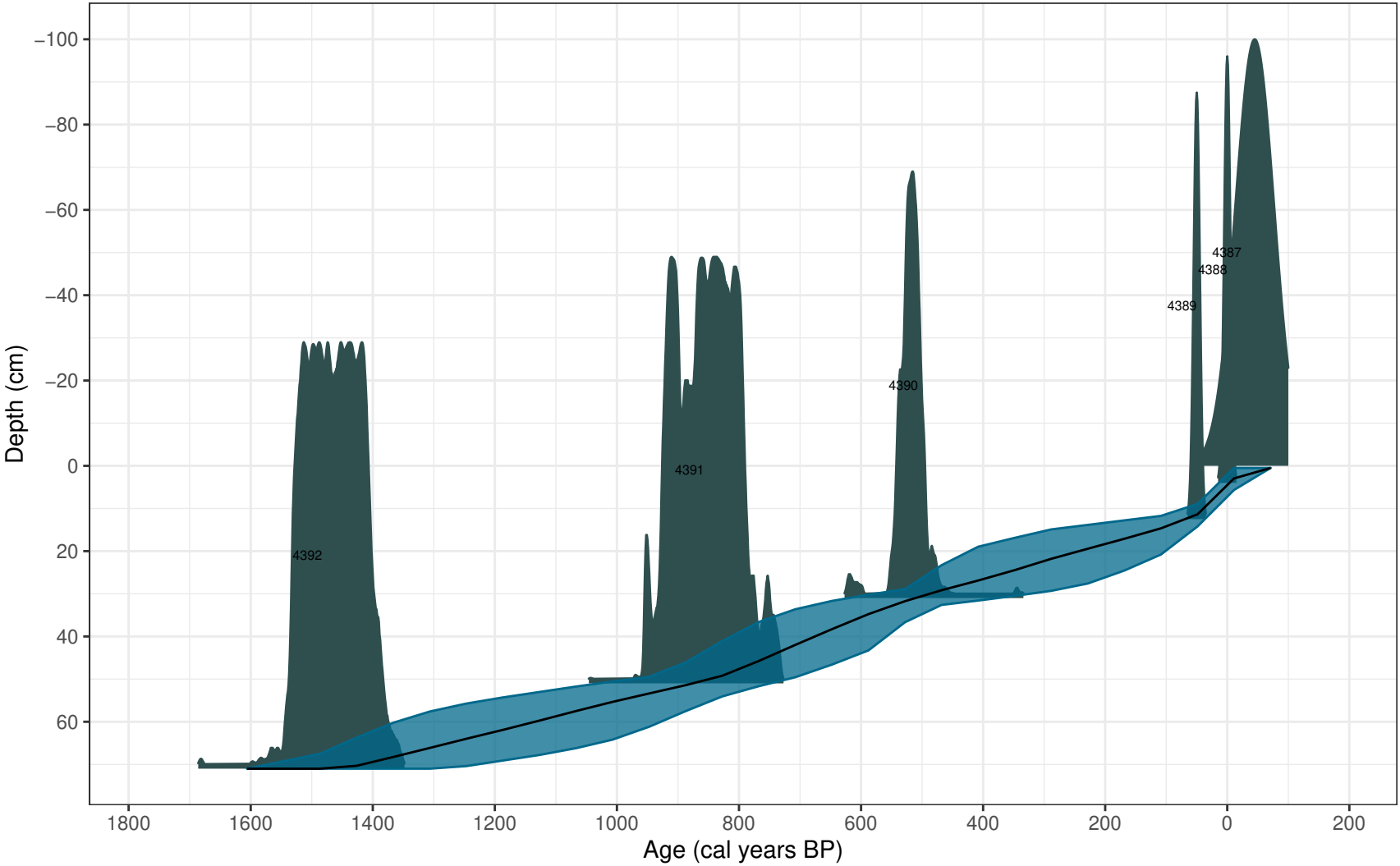

Lynn Lake; Dataset ID 1684

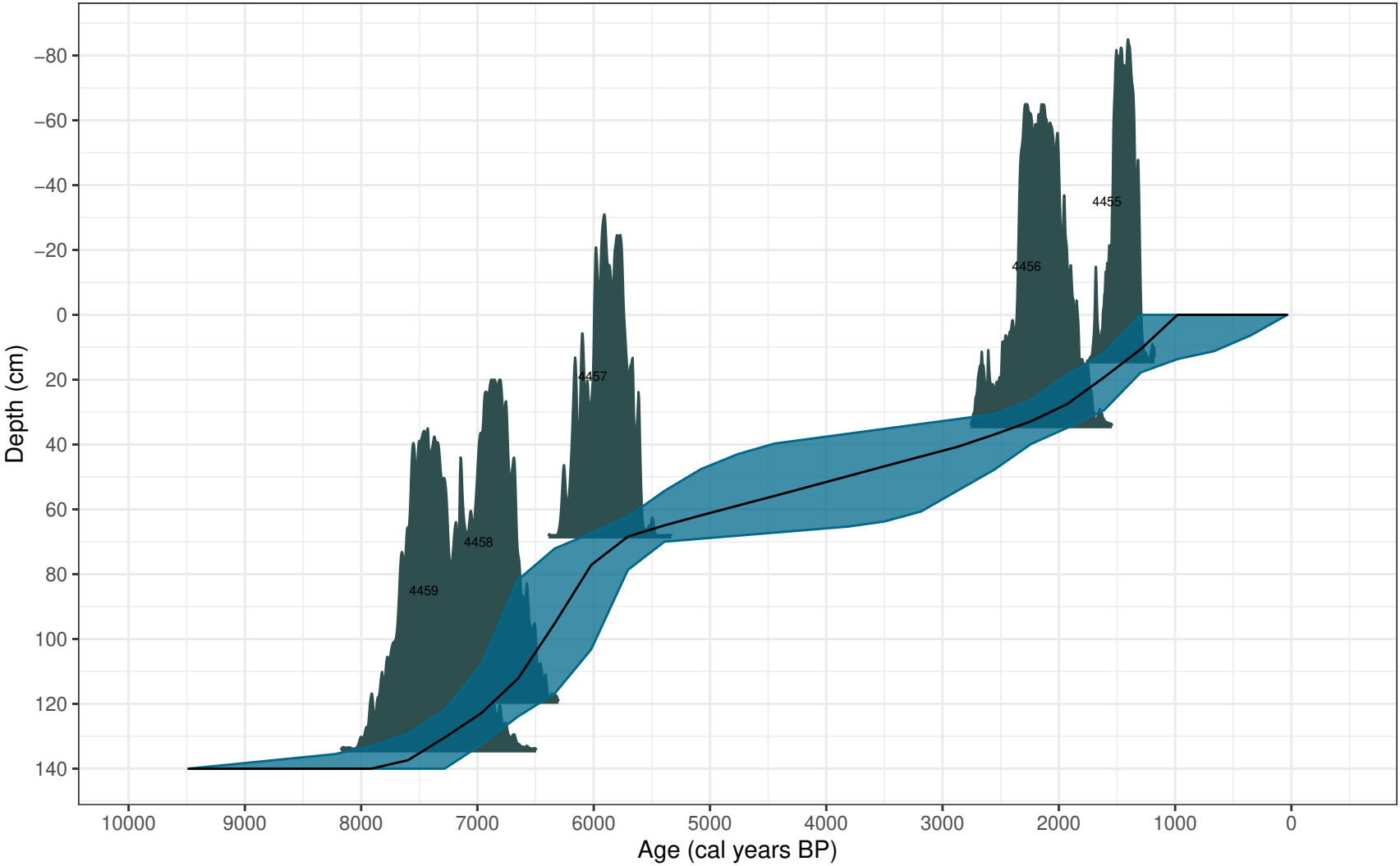

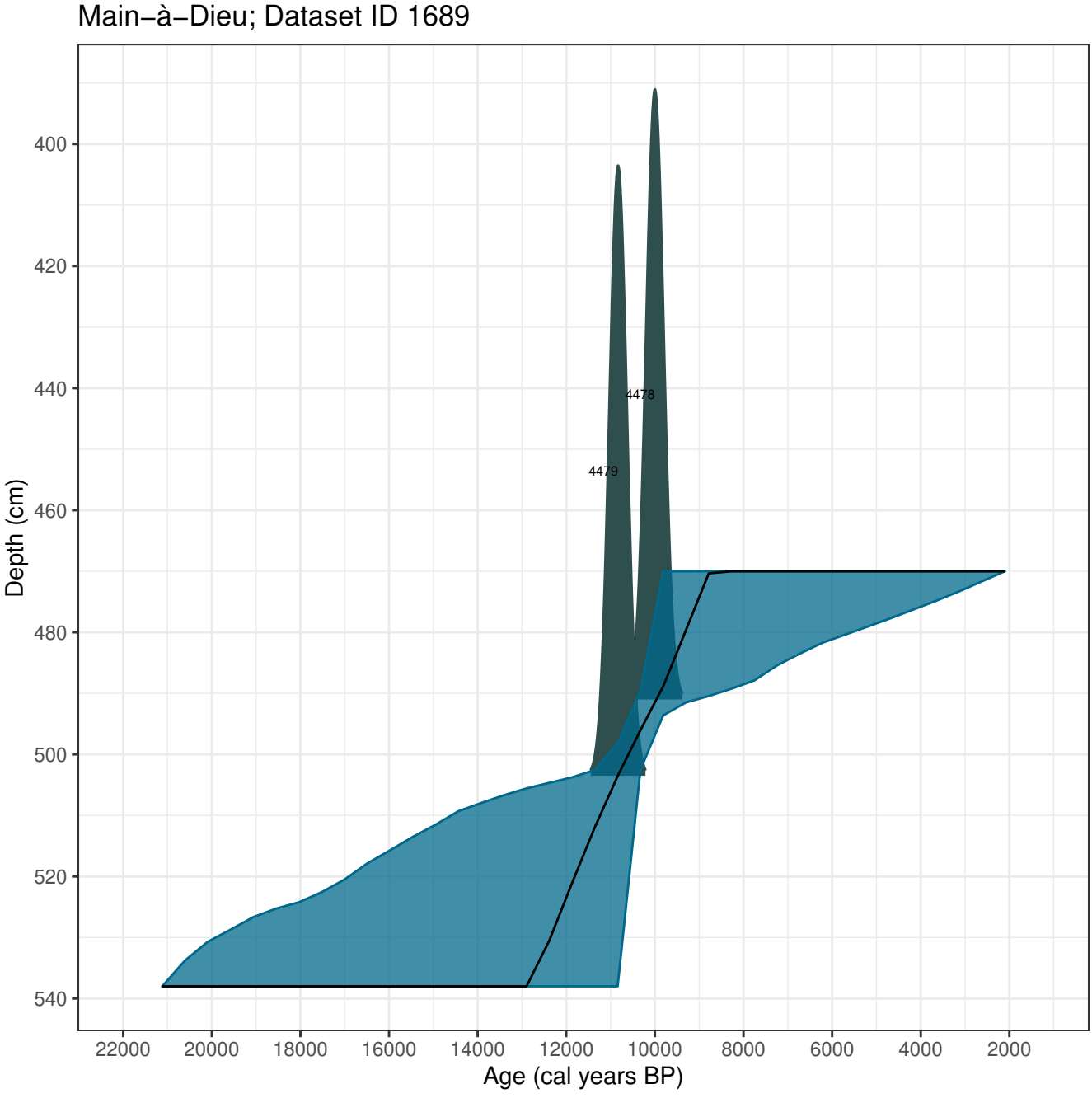
Main−à−Dieu; Dataset ID 1689
Depth (cm)
400
420
440
460
480
500
520
540
4478
4479
22000
20000
18000
16000
14000
12000
10000
8000
6000
4000
2000
Age (cal years BP)

Tourbière du lac Malbaie; Dataset ID 1691

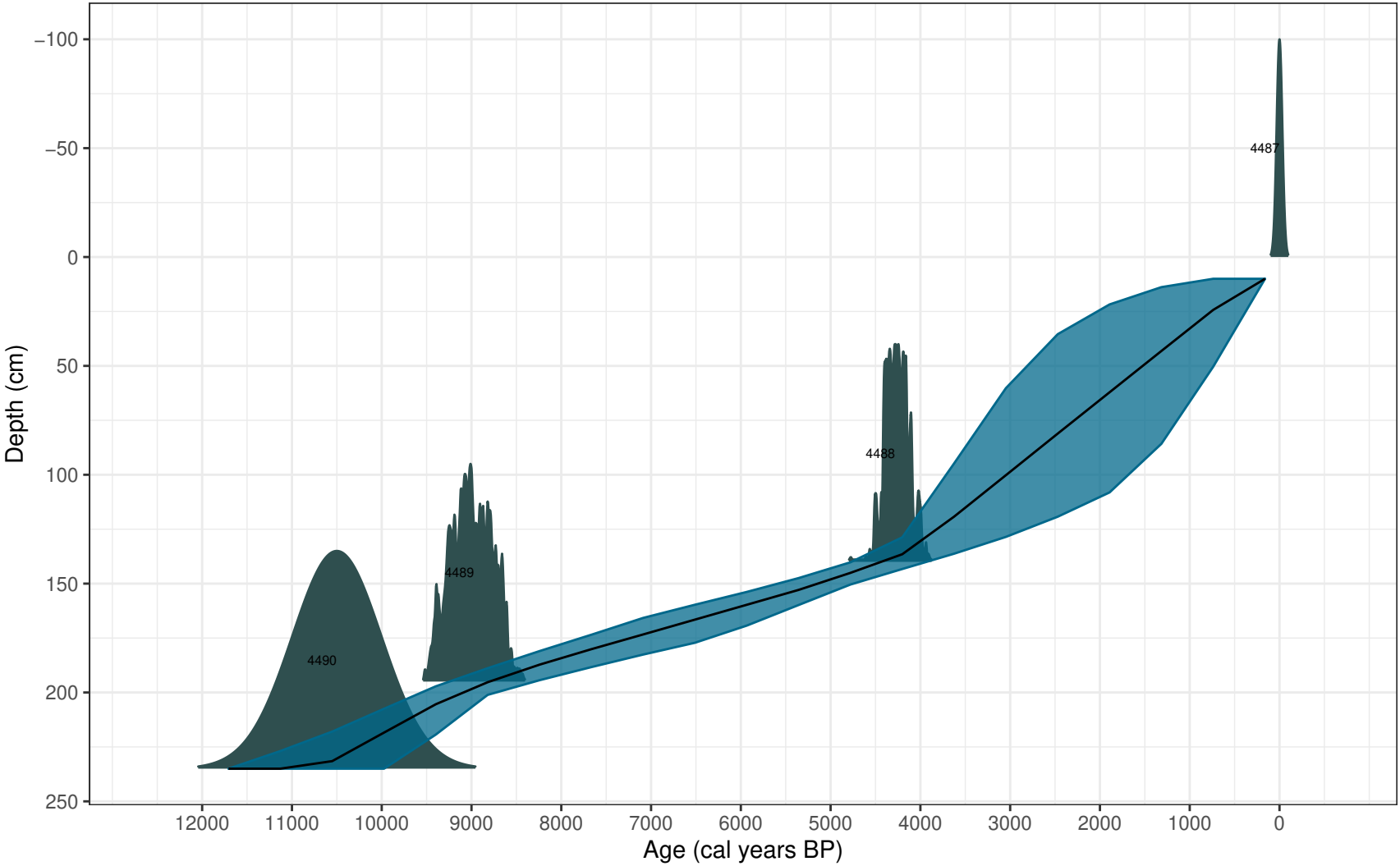

Maligne Lake; Dataset ID 1693

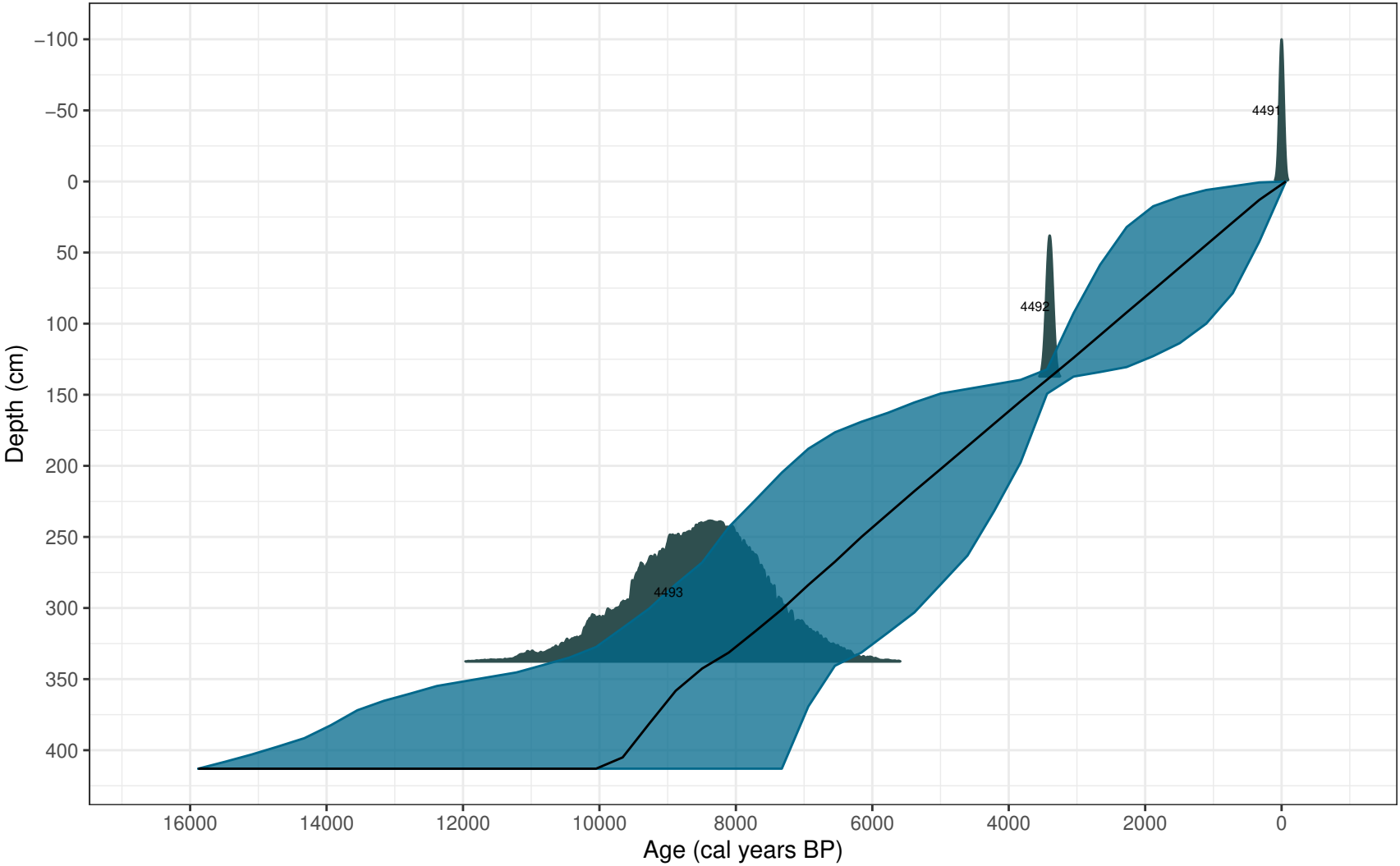

Mangrove Lake; Dataset ID 1697

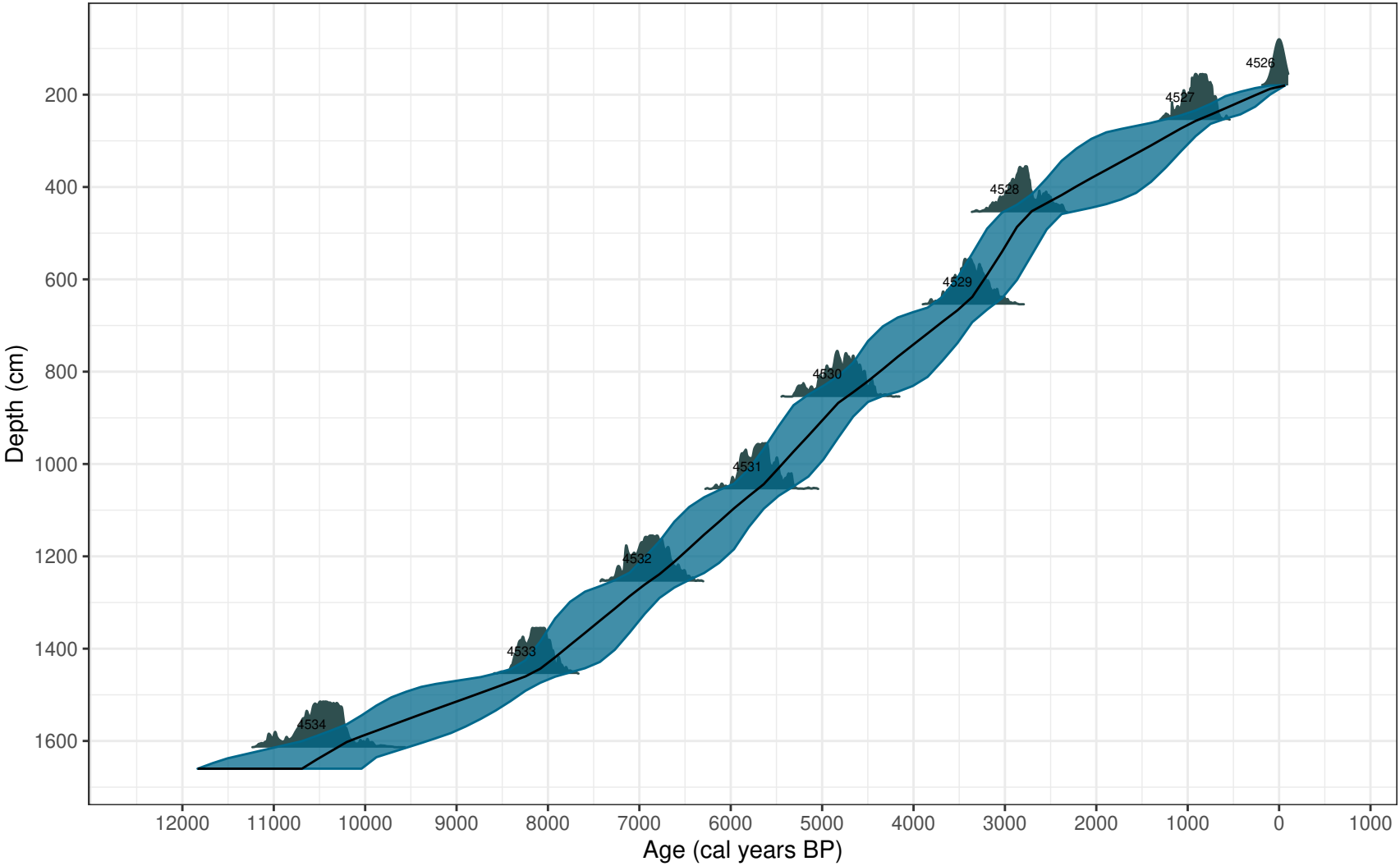

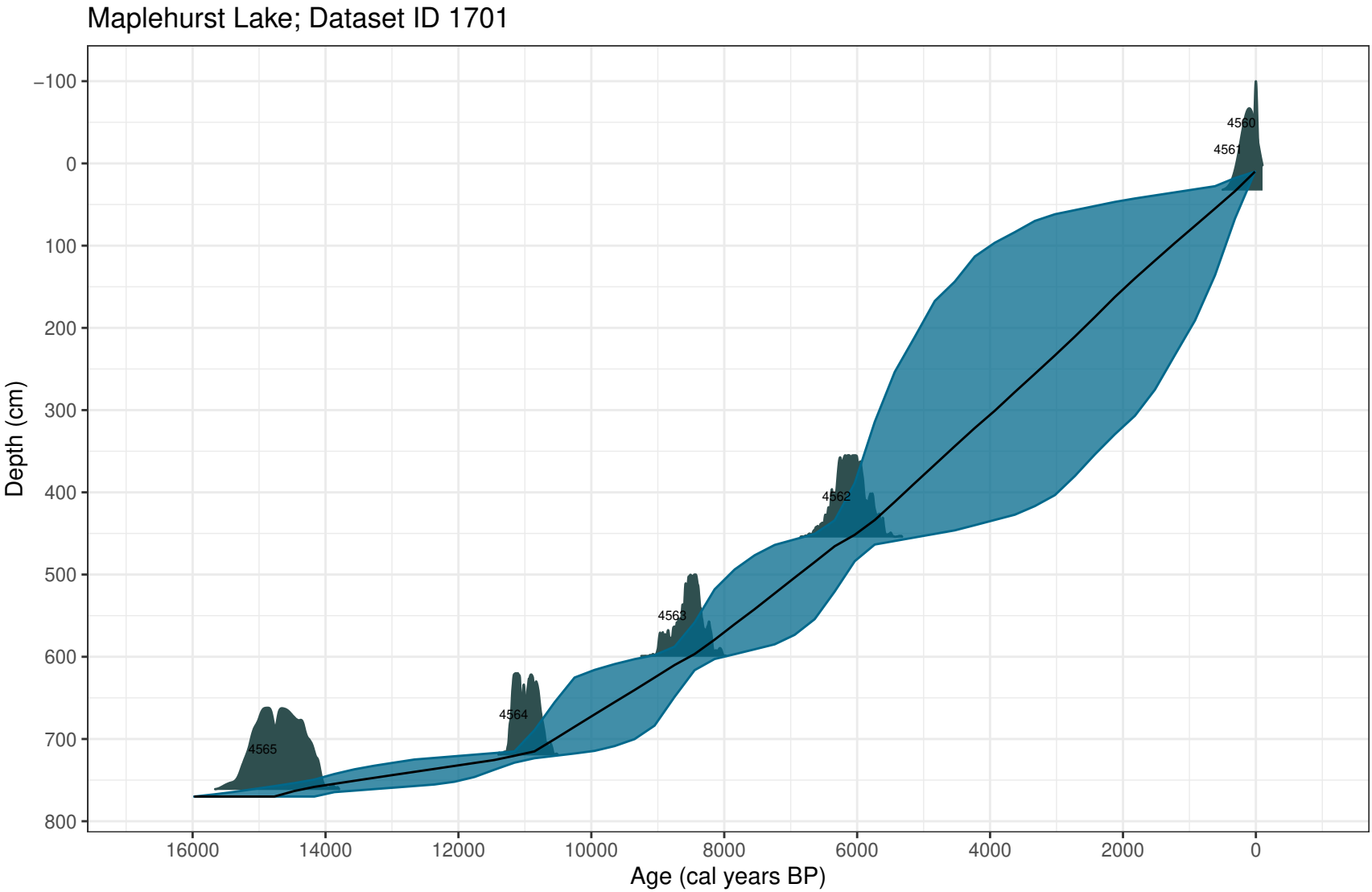
Maplehurst Lake; Dataset ID 1701
Depth (cm)
−100
0
100
200
300
400
500
600
700
800
Age (cal years BP)
16000
14000
12000
10000
8000
6000
4000
2000
0
4560
4561
4562
4563
4564
4565

Lac Marcotte; Dataset ID 1703

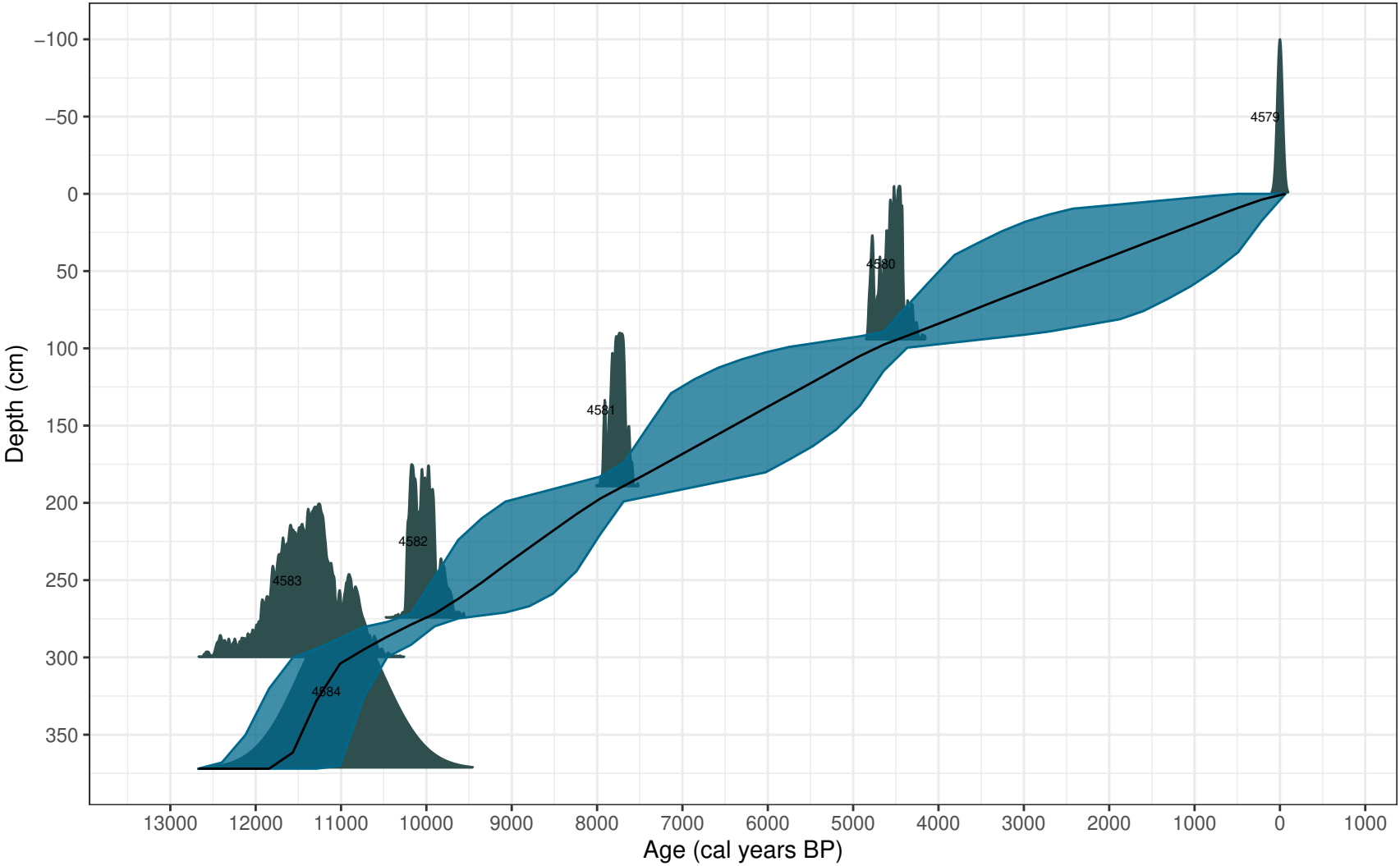

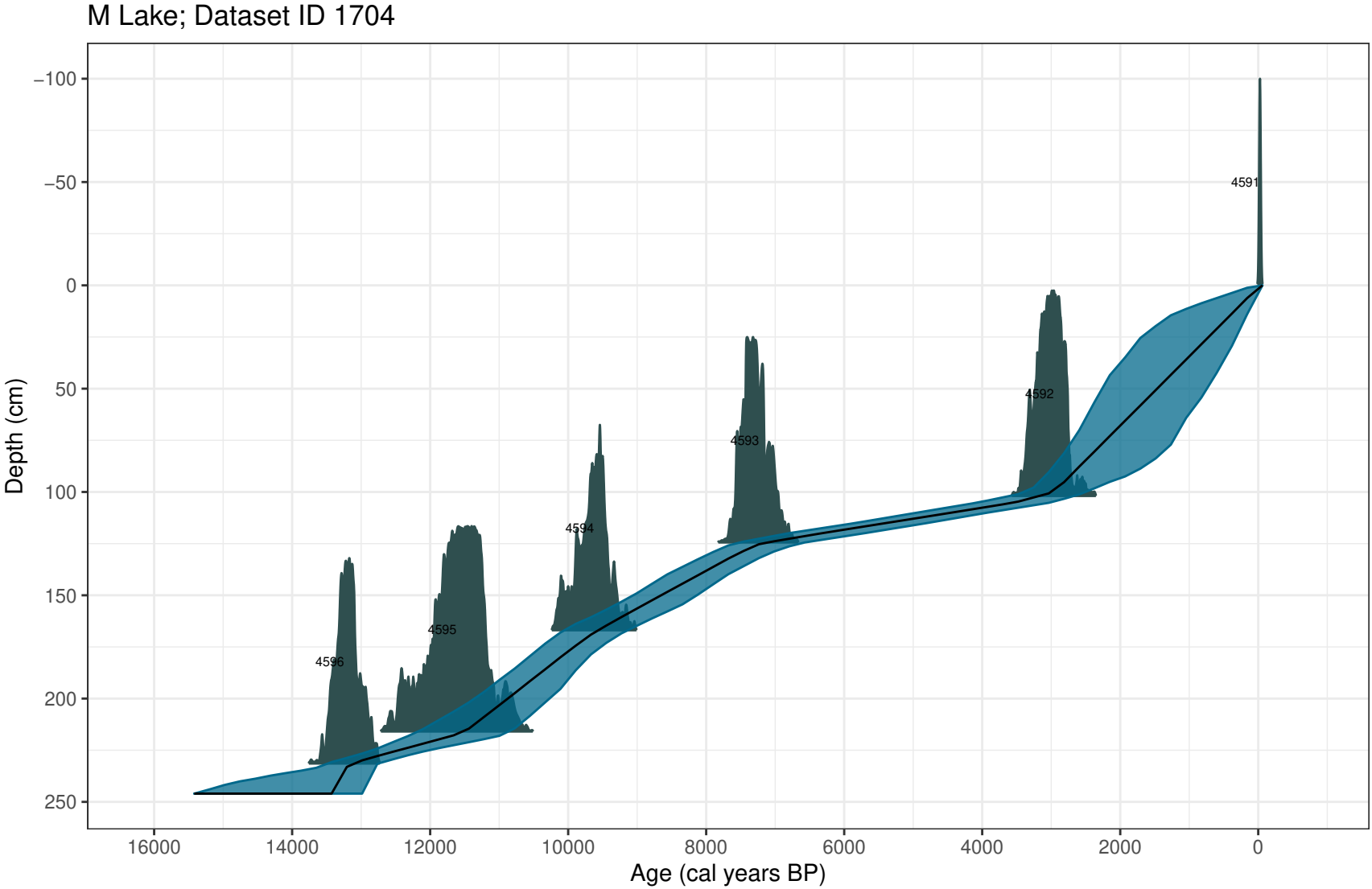
M Lake; Dataset ID 1704
Depth (cm)
−100
−50
0
50
100
150
200
250
Age (cal years BP)
16000
14000
12000
10000
8000
6000
4000
2000
0
4591
4592
4593
4594
4595
4596

Marion Lake; Dataset ID 1705

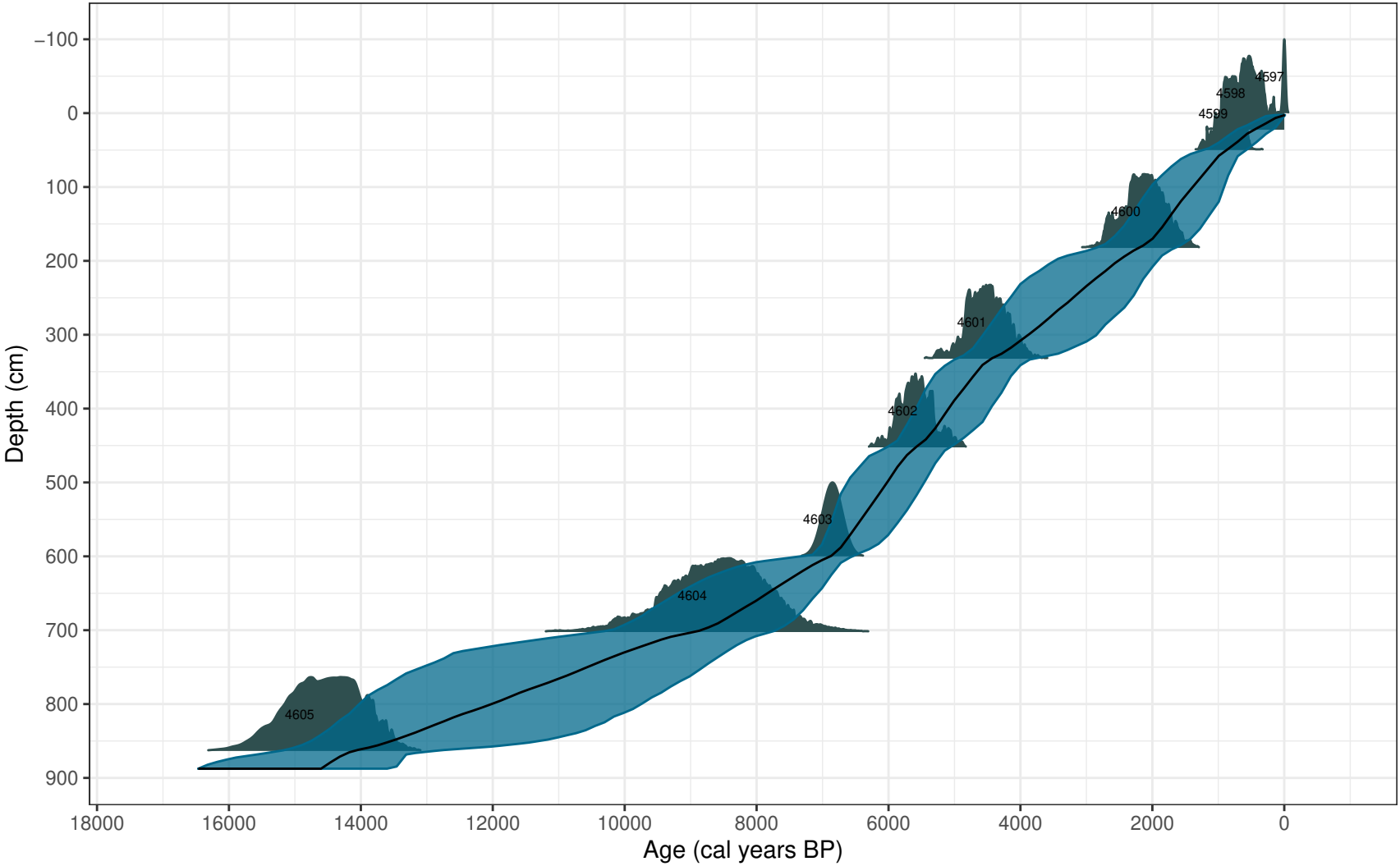

Mariposa Lake; Dataset ID 1707

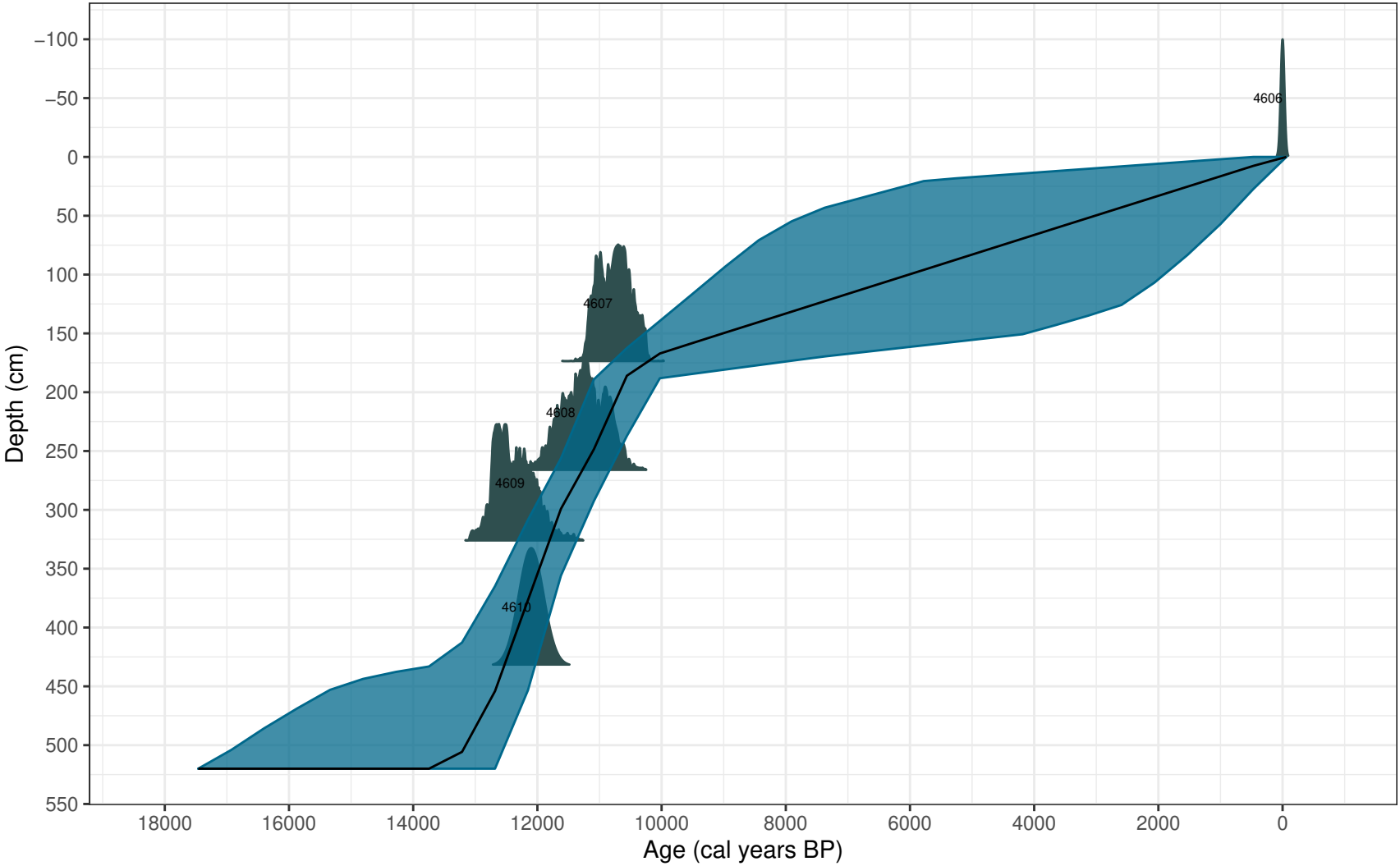

Mashapaug Pond; Dataset ID 1712

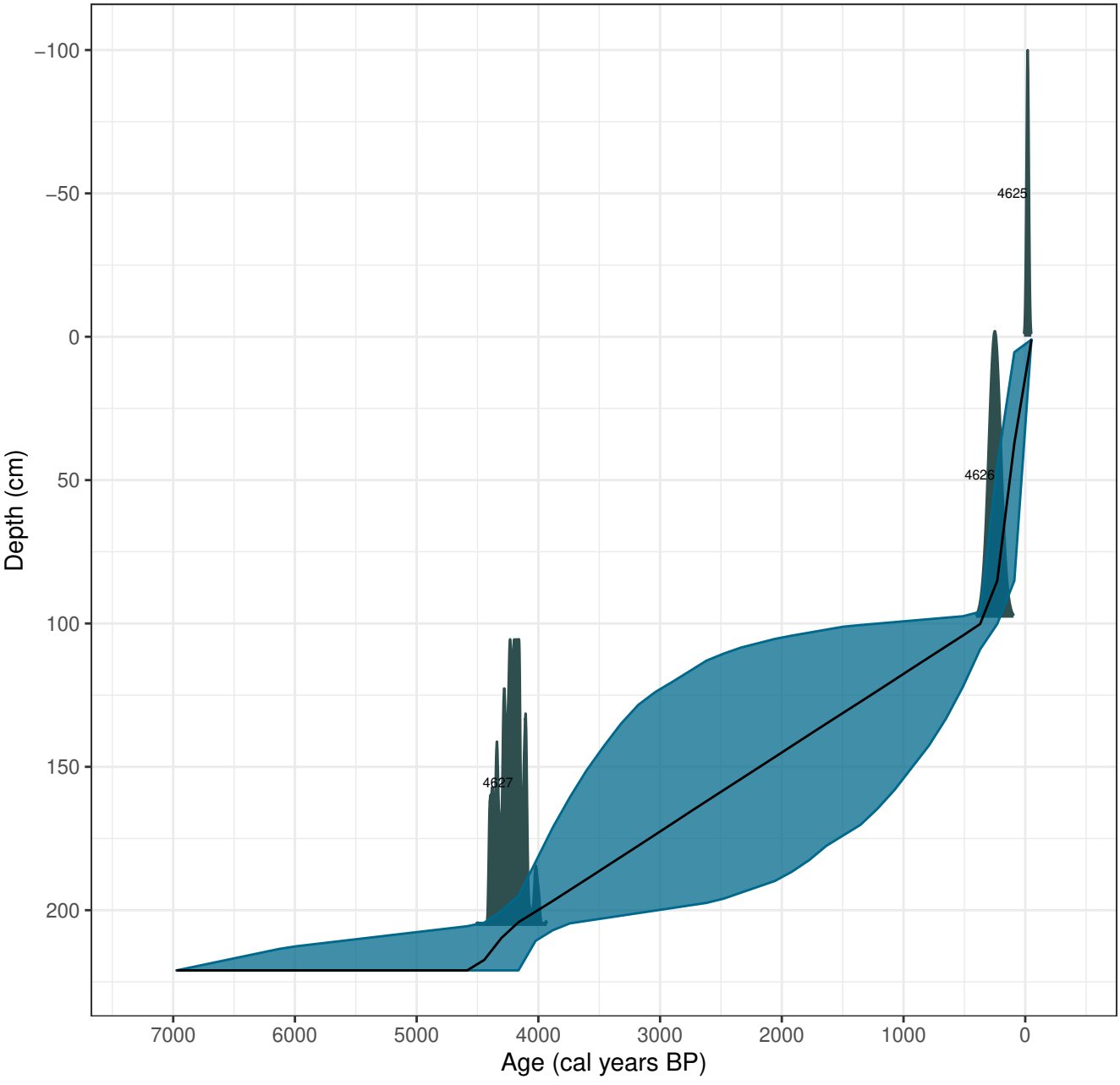

Wapizagonke; Dataset ID 1715

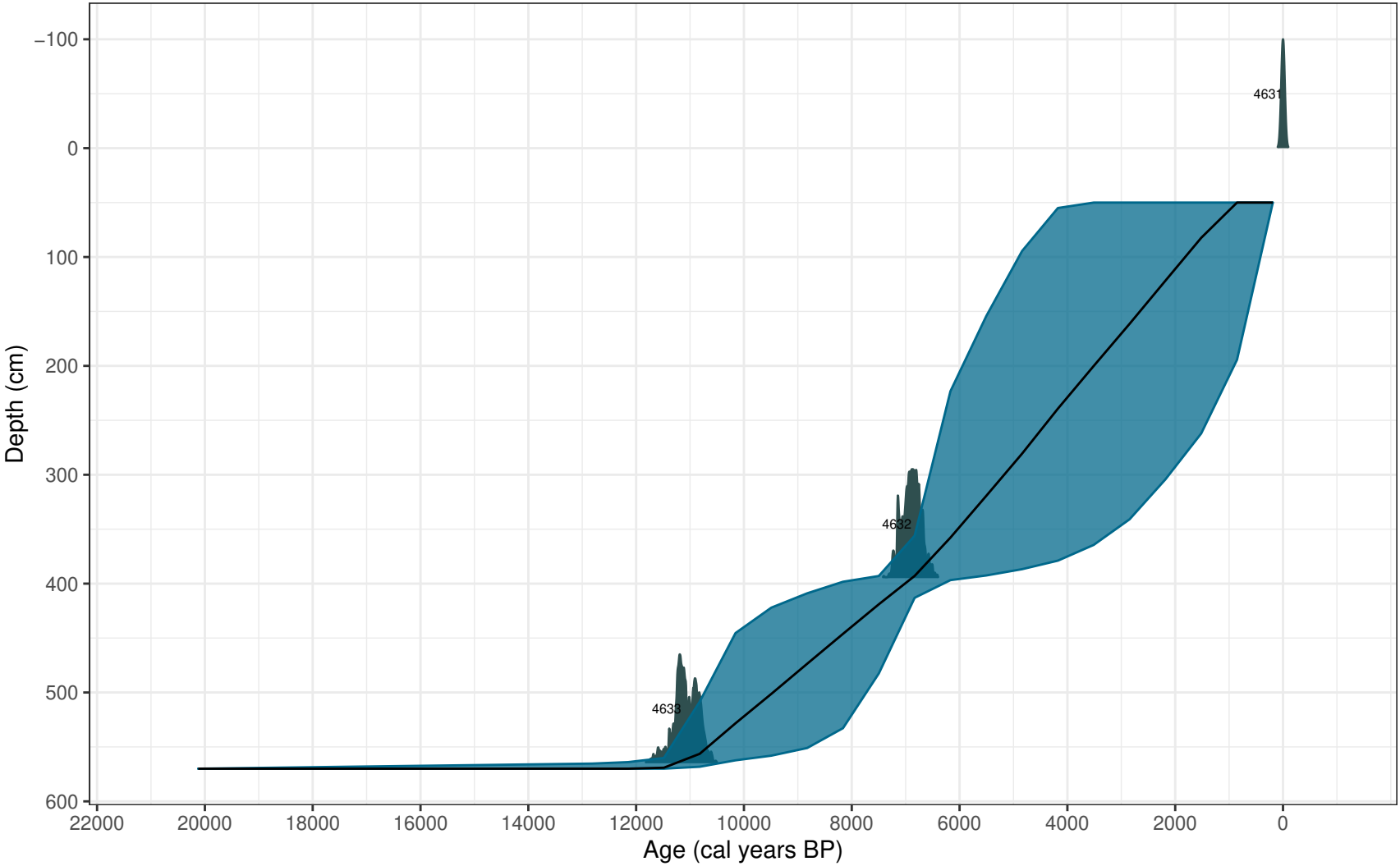

Sud du Lac du Noyer; Dataset ID 1716

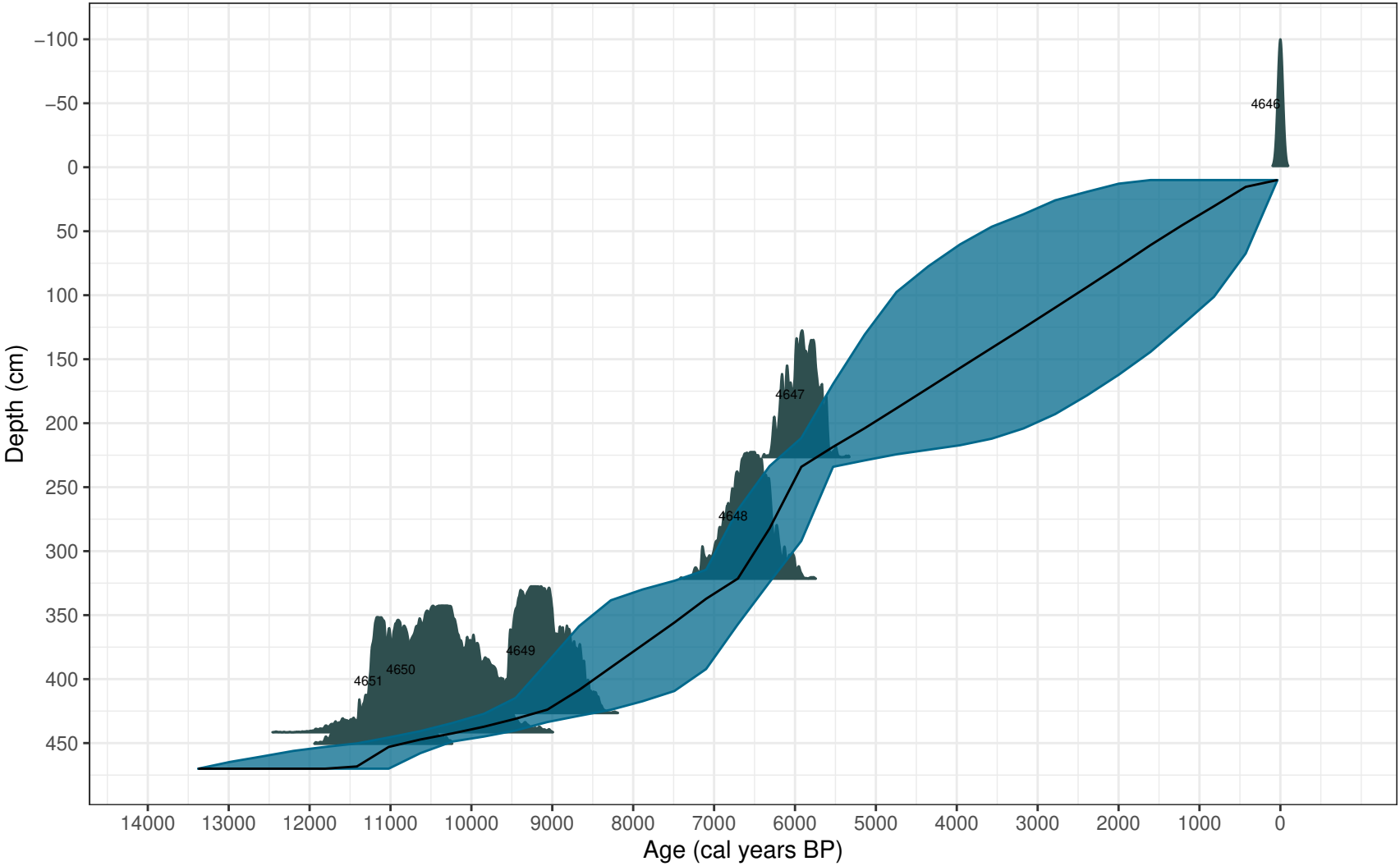

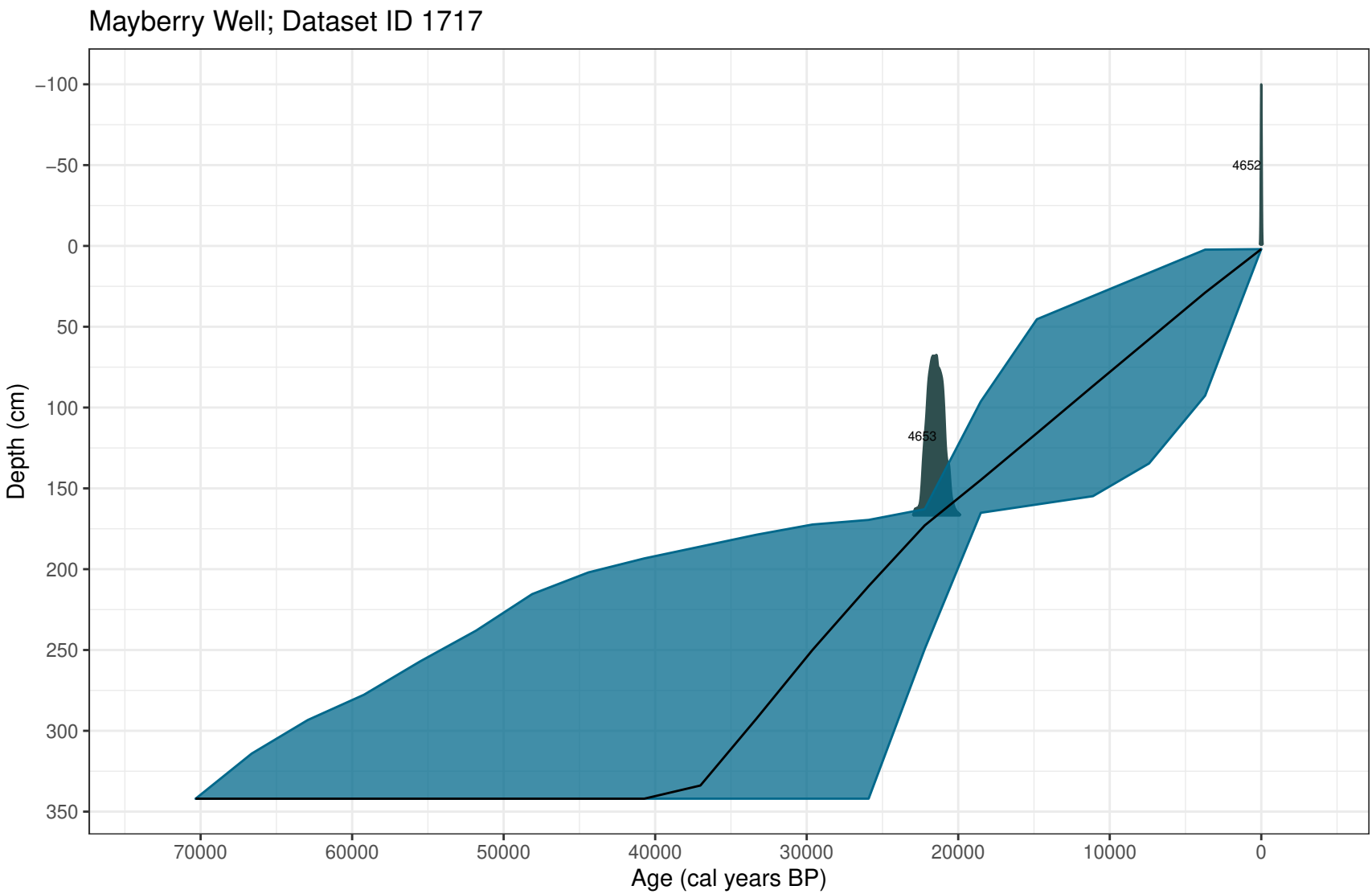
Mayberry Well; Dataset ID 1717
Depth (cm)
−100
−50
0
50
100
150
200
250
300
350
4652
4653
70000
60000
50000
40000
30000
20000
10000
0
Age (cal years BP)

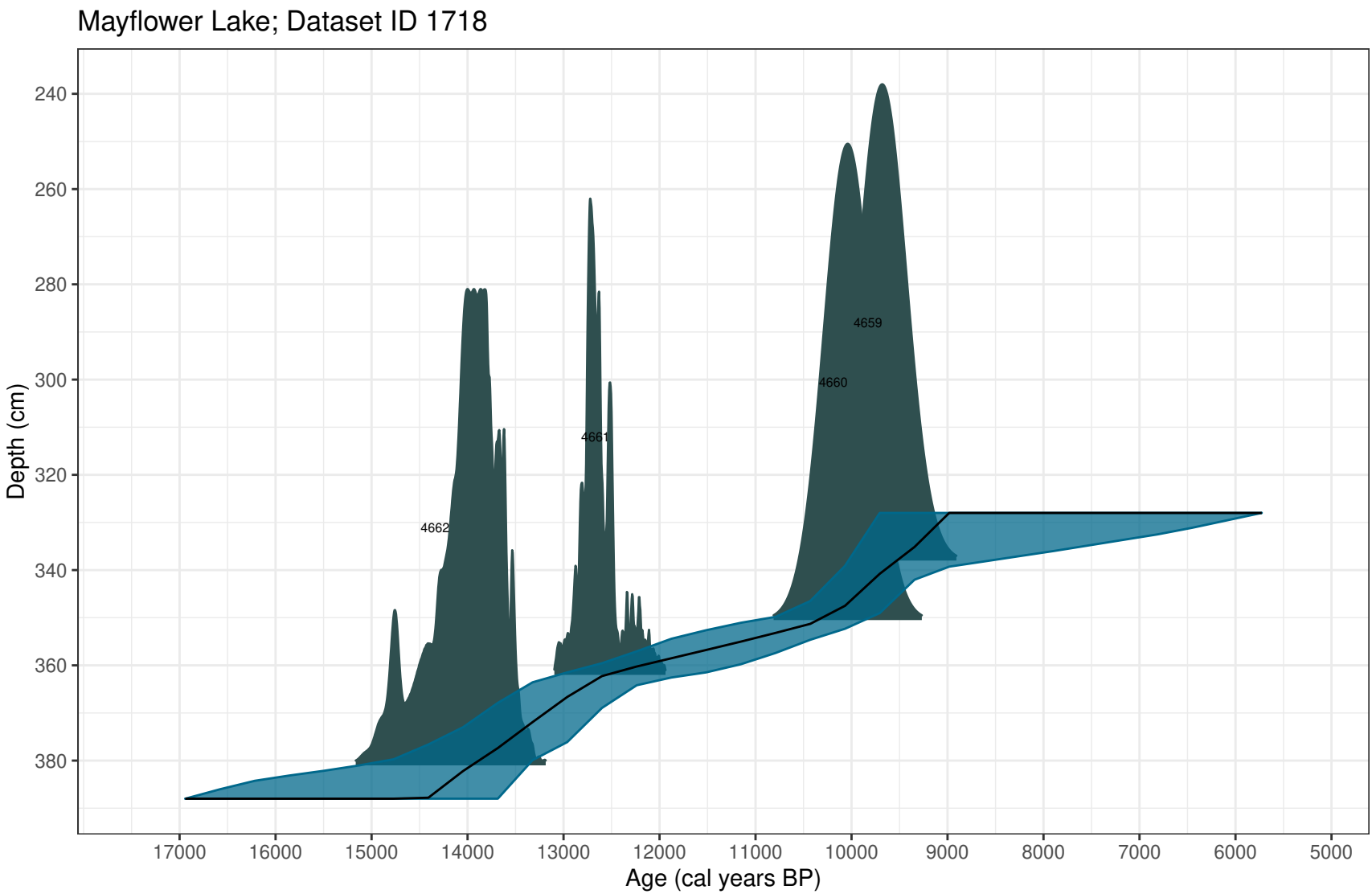
Mayflower Lake; Dataset ID 1718
Depth (cm)
240
260
280
300
320
340
360
380
4662
4661
4660
4659
17000
16000
15000
14000
13000
12000
11000
10000
9000
8000
7000
6000
5000
Age (cal years BP)

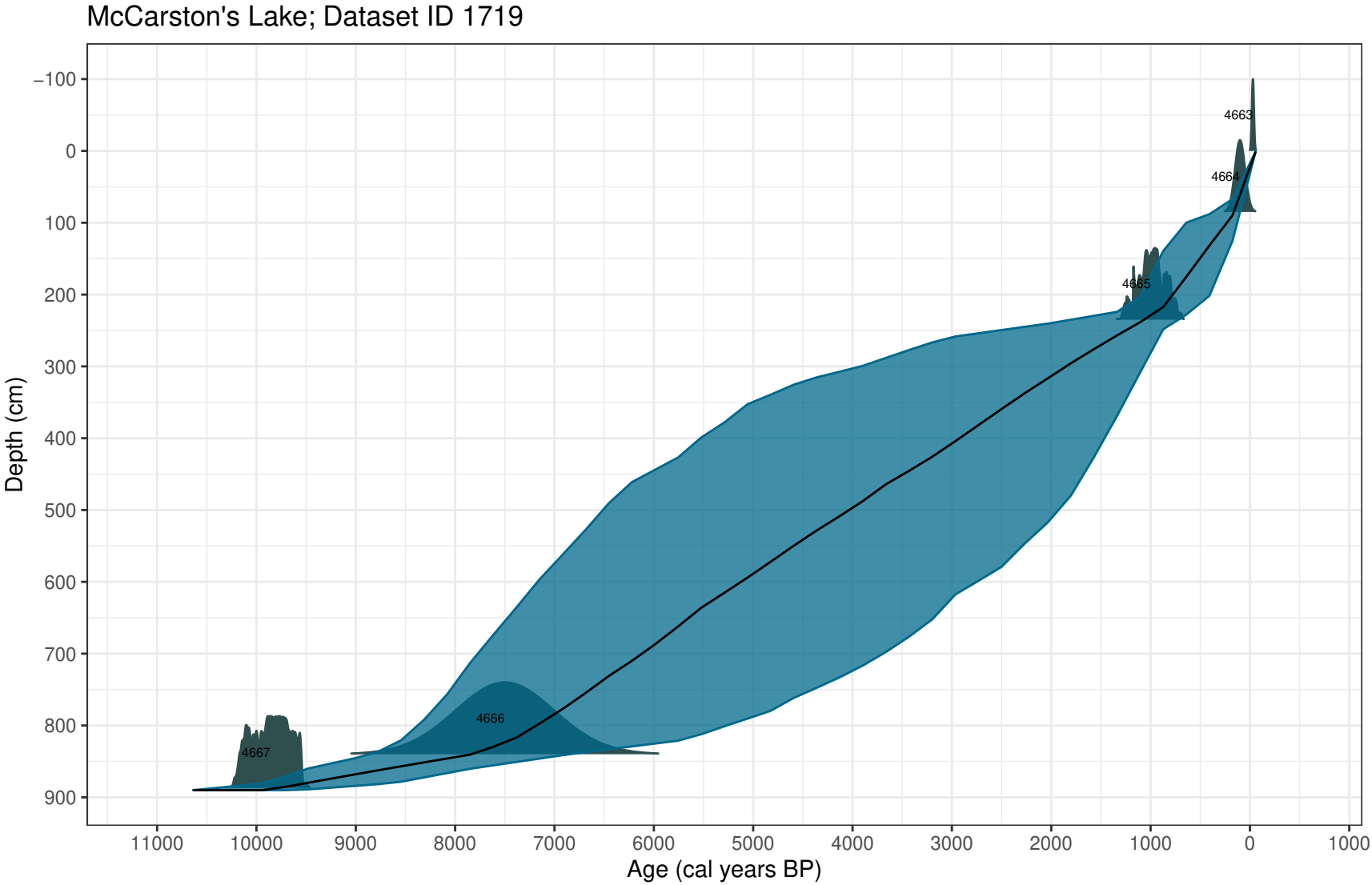
McCarston's Lake; Dataset ID 1719
Depth (cm)
−100
0
100
200
300
400
500
600
700
800
900
Age (cal years BP)
11000
10000
9000
8000
7000
6000
5000
4000
3000
2000
1000
0
1000
4663
4664
4665
4666
4667

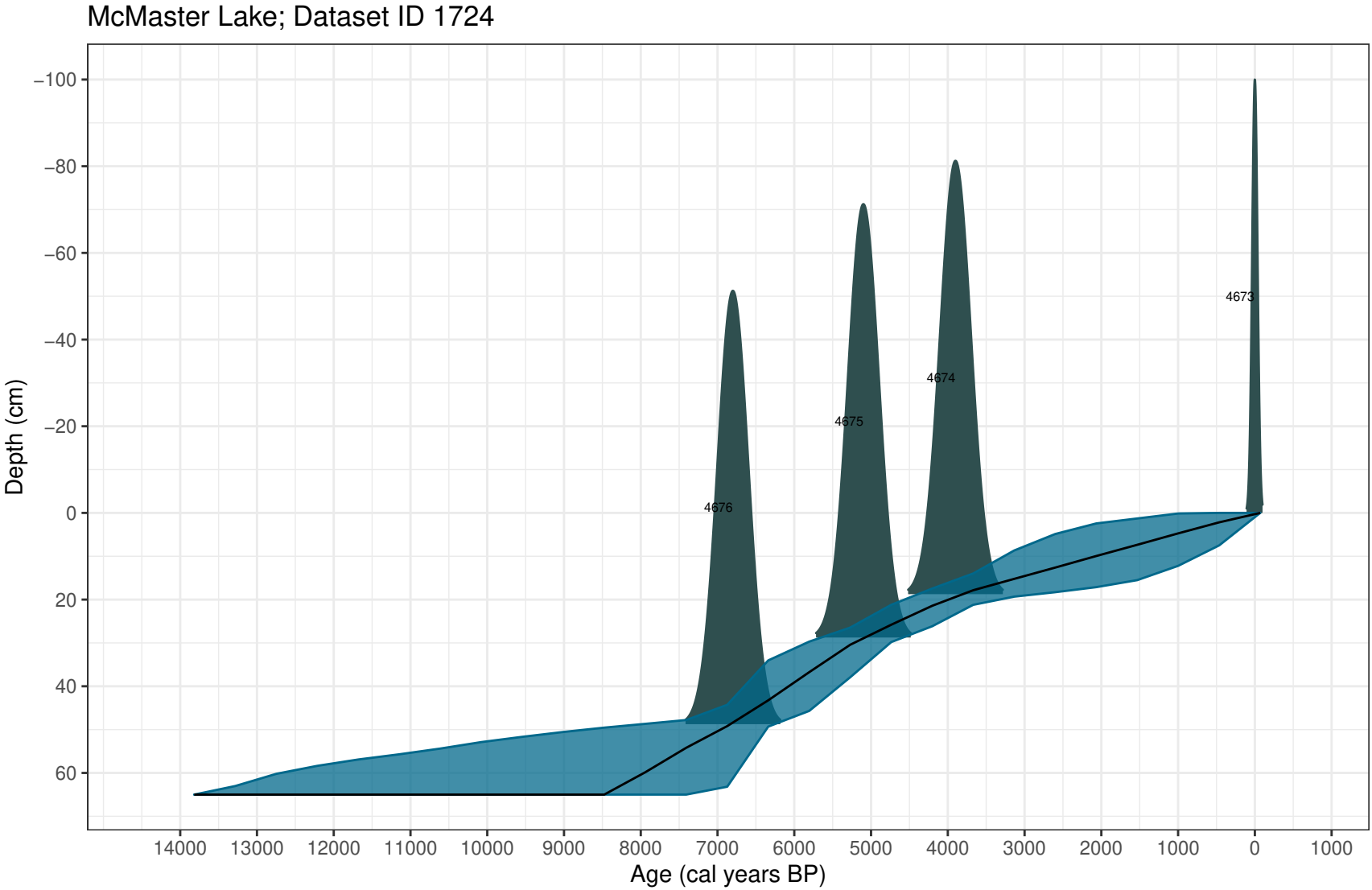
McMaster Lake; Dataset ID 1724
Depth (cm)
−100
−80
−60
−40
−20
0
20
40
60
4673
4674
4675
4676
14000
13000
12000
11000
10000
9000
8000
7000
6000
5000
4000
3000
2000
1000
0
1000
Age (cal years BP)

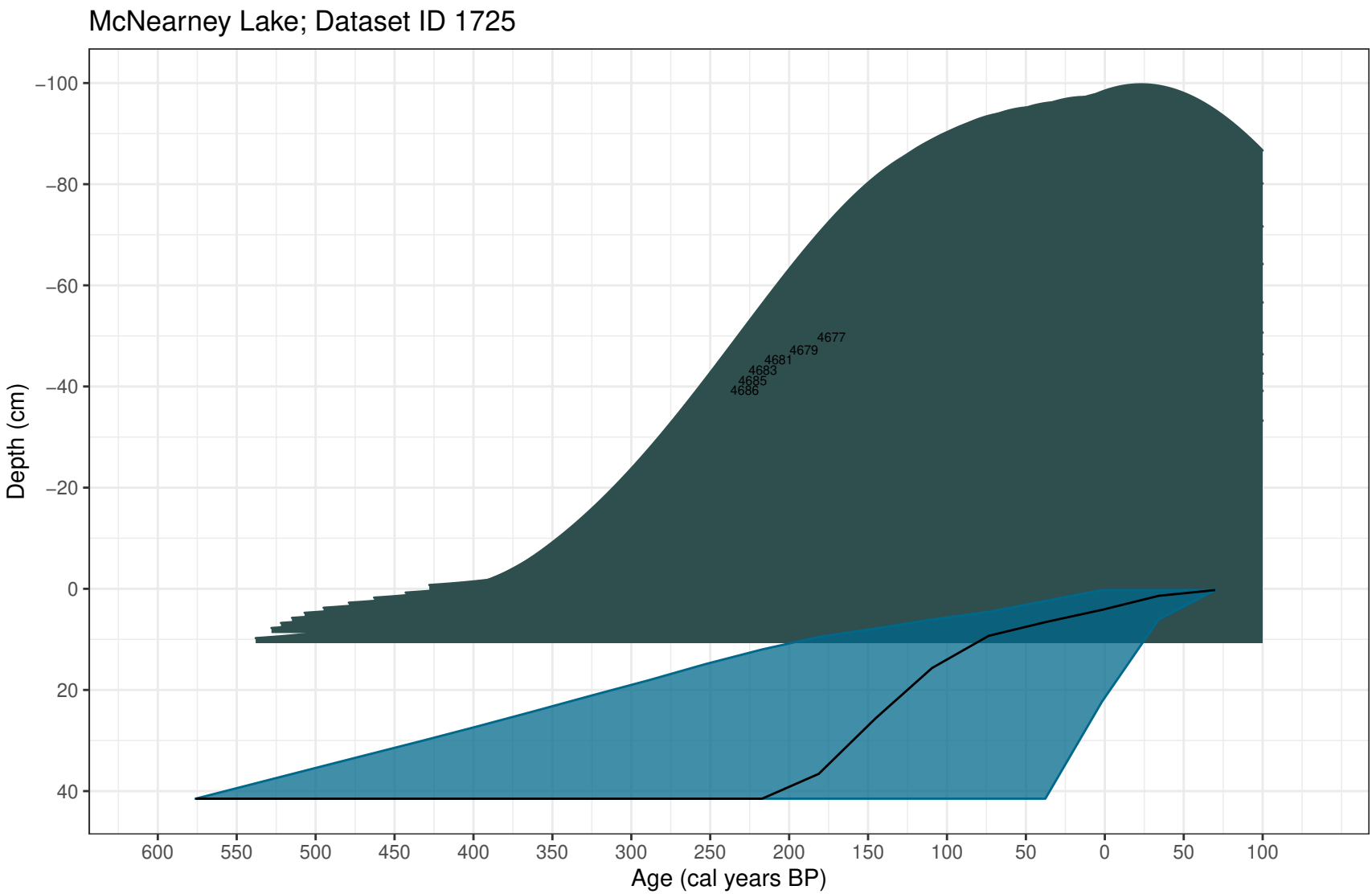
McNearney Lake; Dataset ID 1725
Depth (cm)
−100
−80
−60
−40
−20
0
20
40
4677
4679
4681
4683
4685
4686
600
550
500
450
400
350
300
250
200
150
100
50
0
50
100
Age (cal years BP)

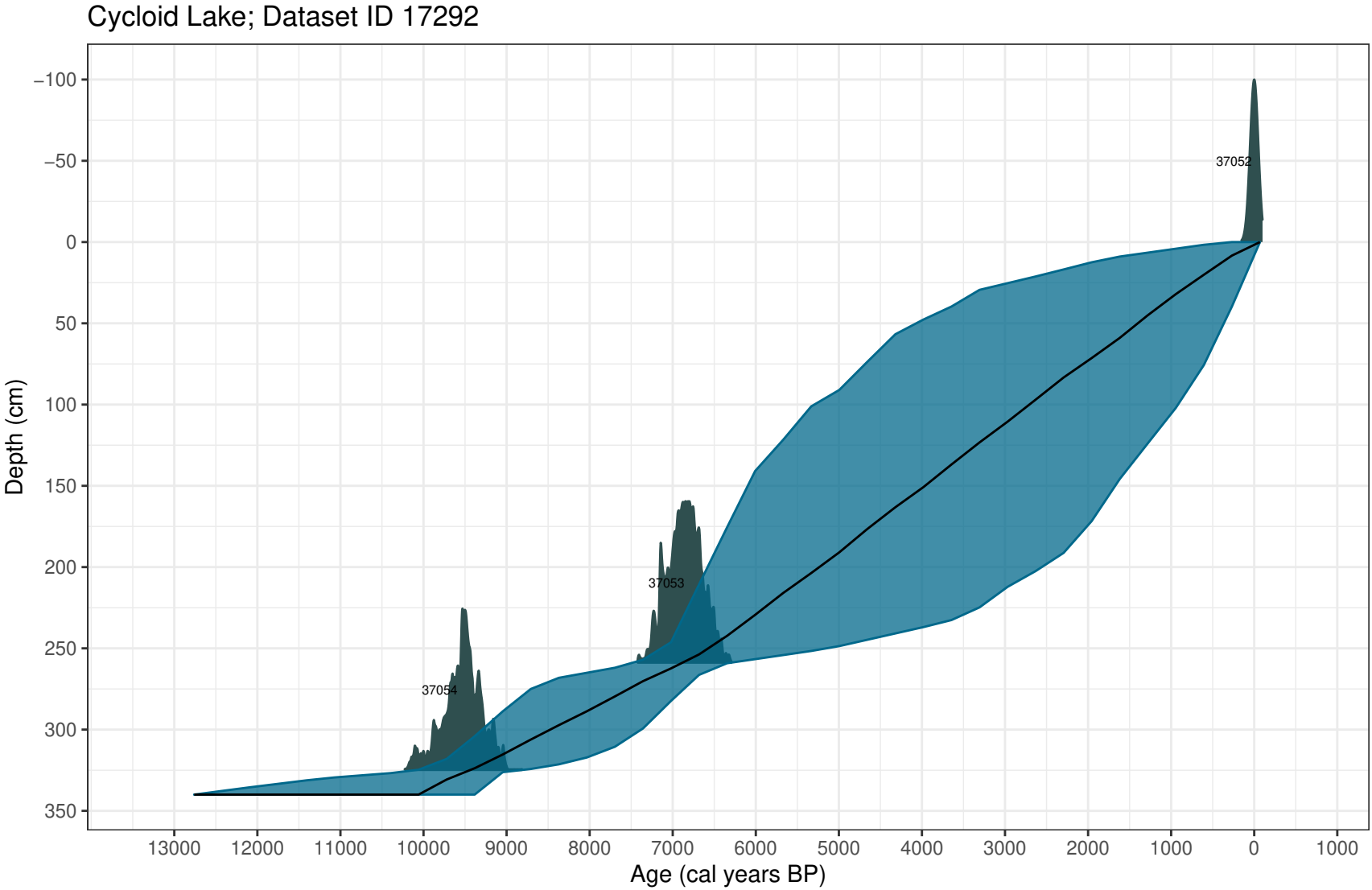
Cycloid Lake; Dataset ID 17292
Depth (cm)
−100
−50
0
50
100
150
200
250
300
350
37052
37053
37054
13000
12000
11000
10000
9000
8000
7000
6000
5000
4000
3000
2000
1000
0
1000
Age (cal years BP)

Medicine Lake; Dataset ID 1732

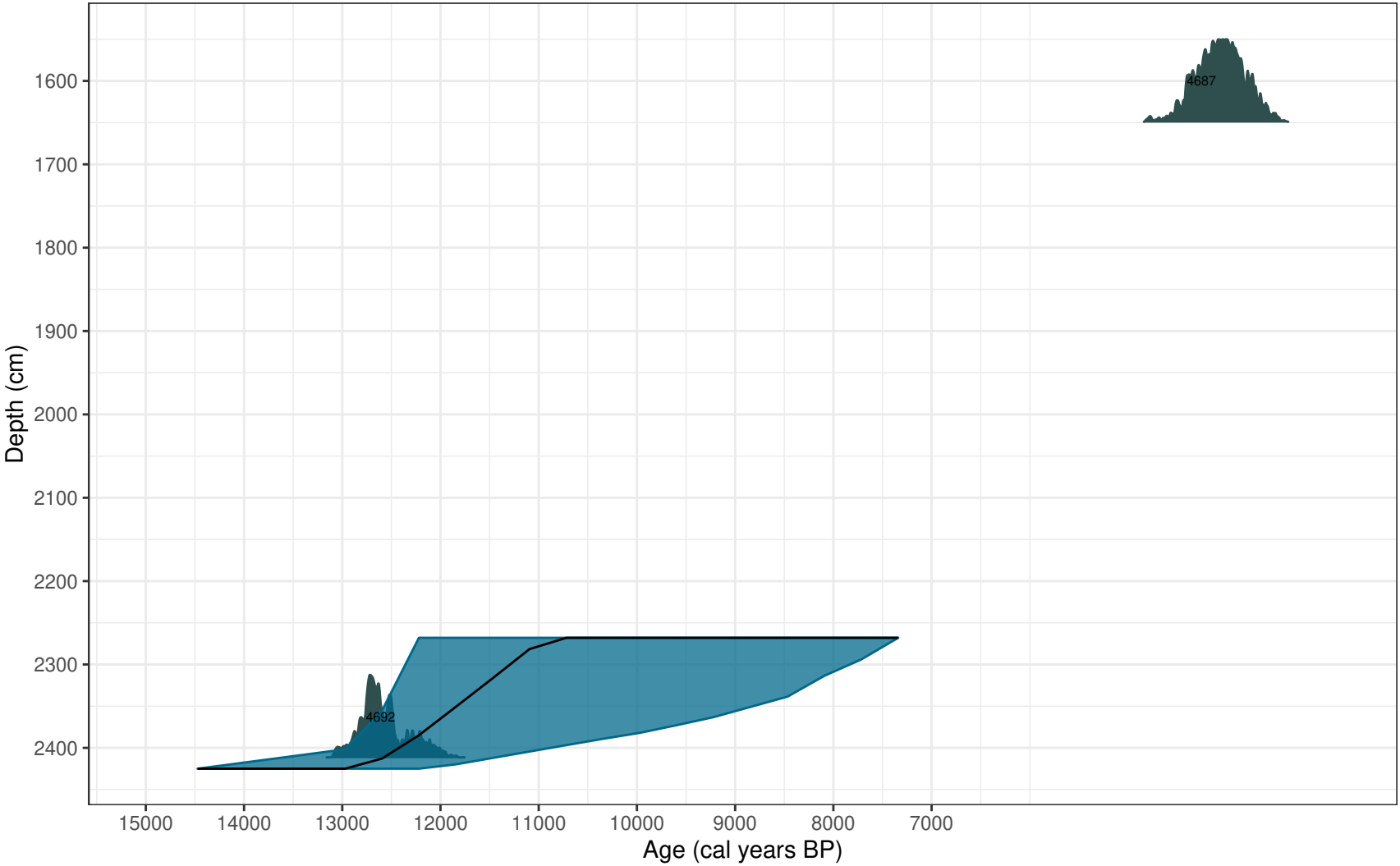

Lac Mélèze; Dataset ID 1733

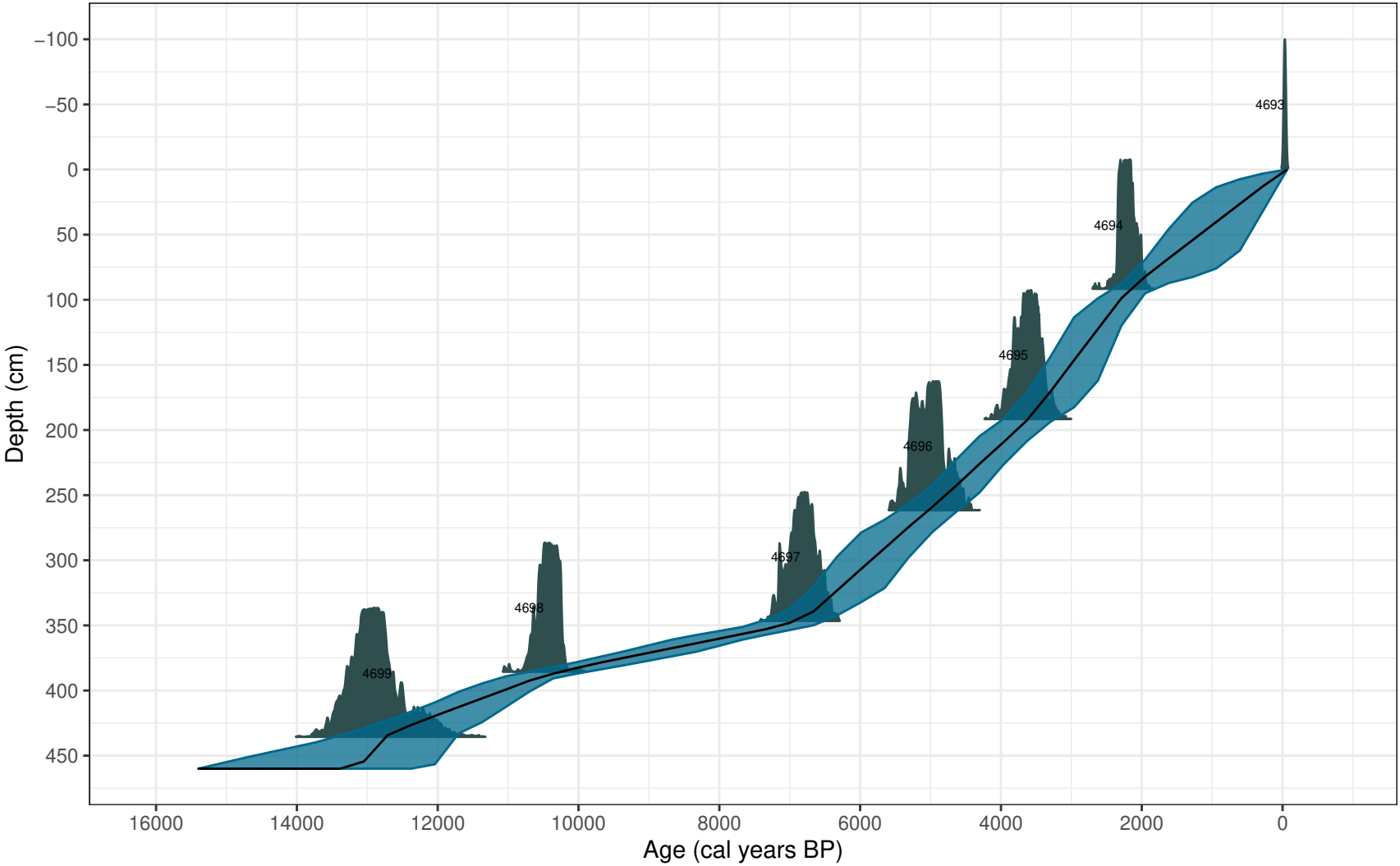

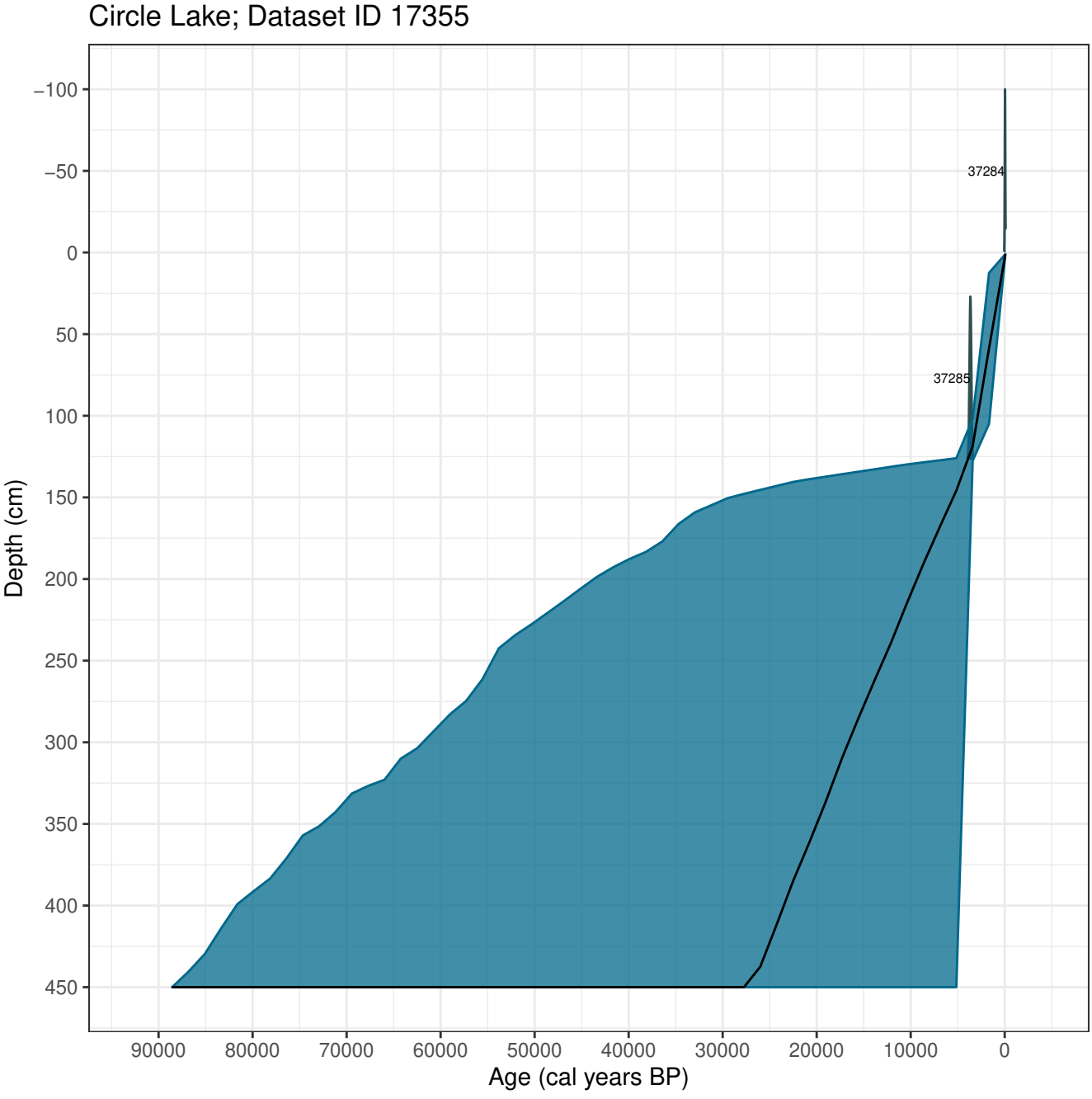
Circle Lake; Dataset ID 17355
Depth (cm)
−100
−50
0
50
100
150
200
250
300
350
400
450
37284
37285
90000
80000
70000
60000
50000
40000
30000
20000
10000
0
Age (cal years BP)

Mermaid Bog; Dataset ID 1740

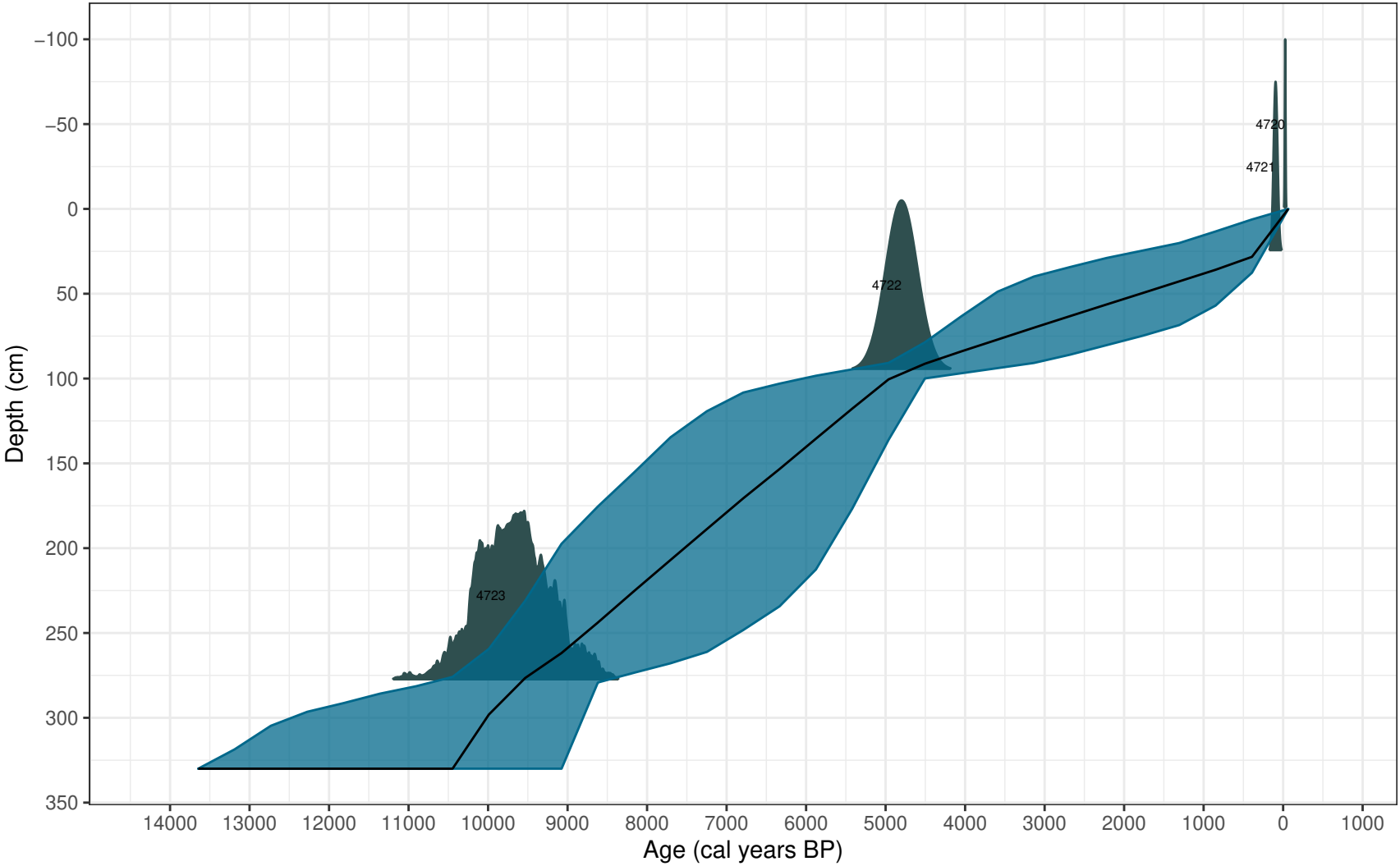

Penegor Lake; Dataset ID 17406

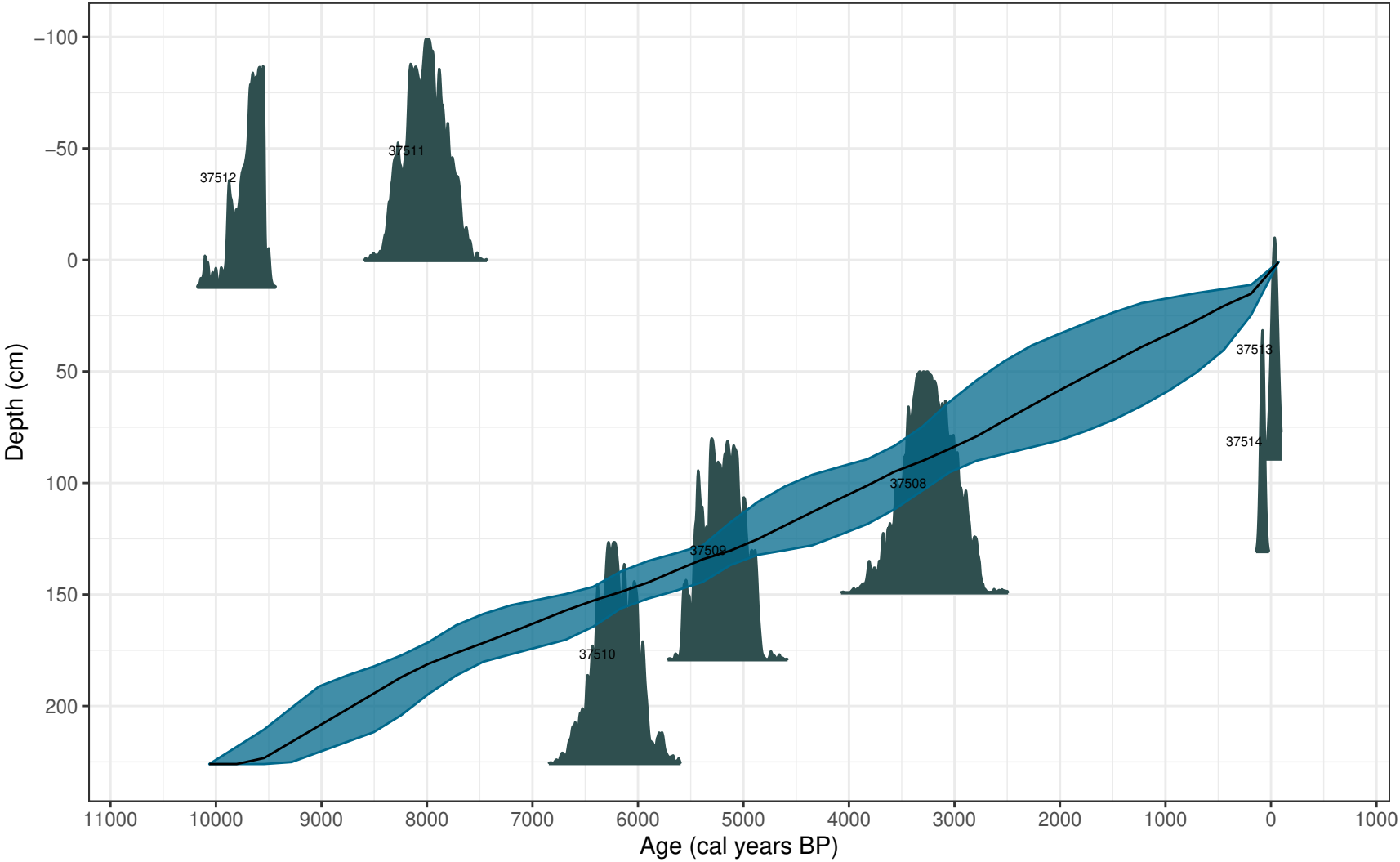

Lac Mimi; Dataset ID 1754

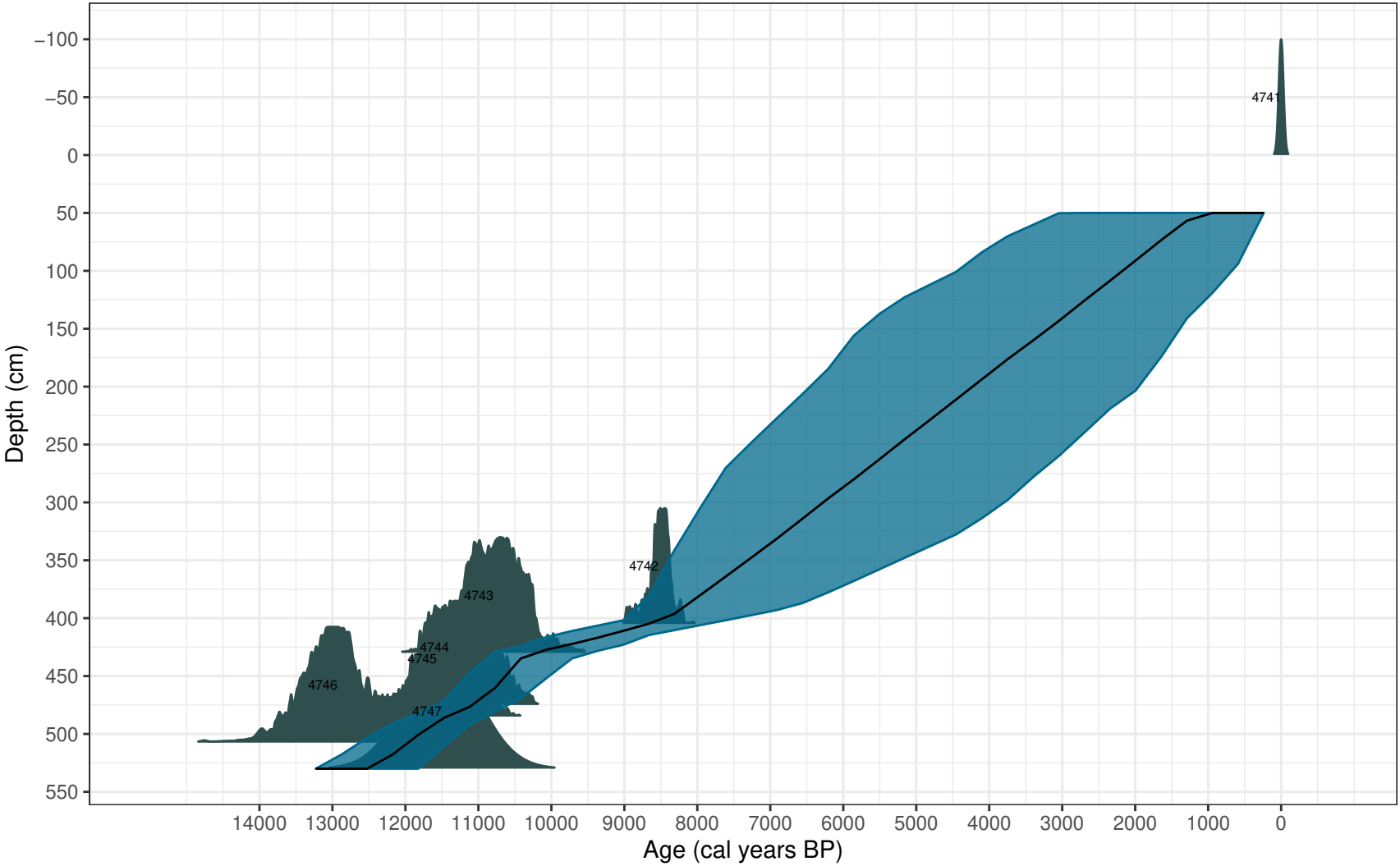

Minakokosa Lake; Dataset ID 1755

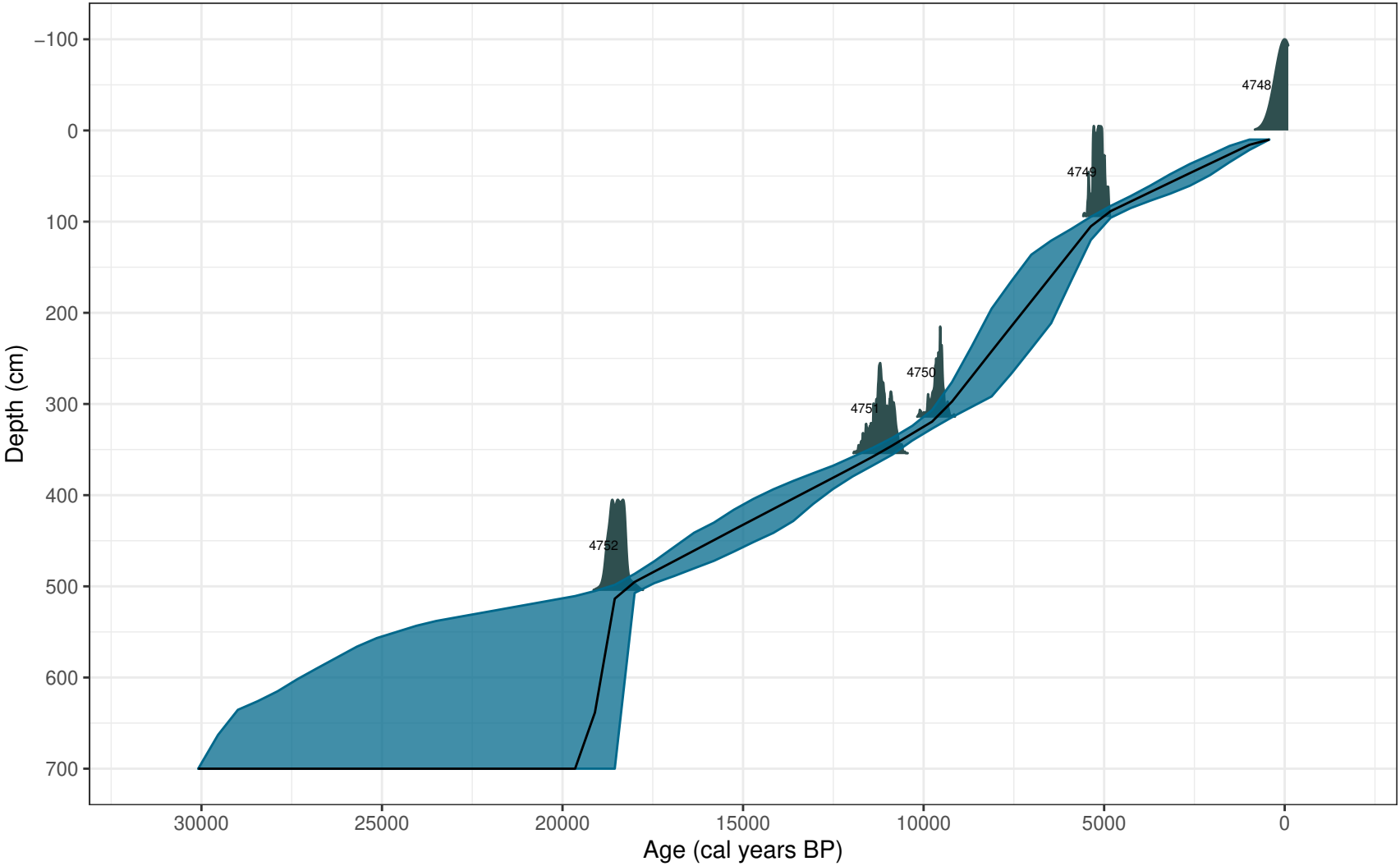

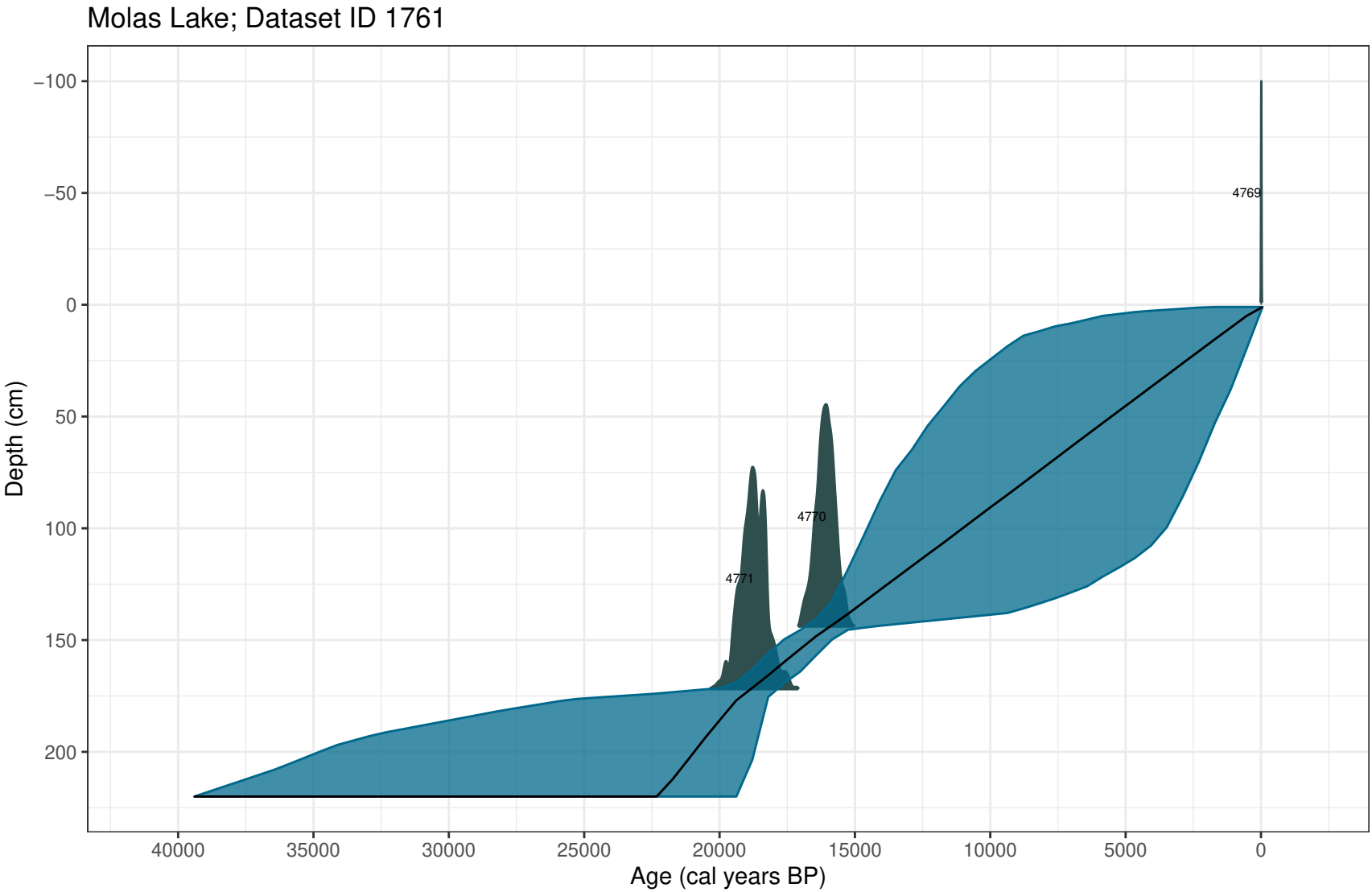
Molas Lake; Dataset ID 1761
Depth (cm)
−100
−50
0
50
100
150
200
4769
4770
4771
40000
35000
30000
25000
20000
15000
10000
5000
0
Age (cal years BP)

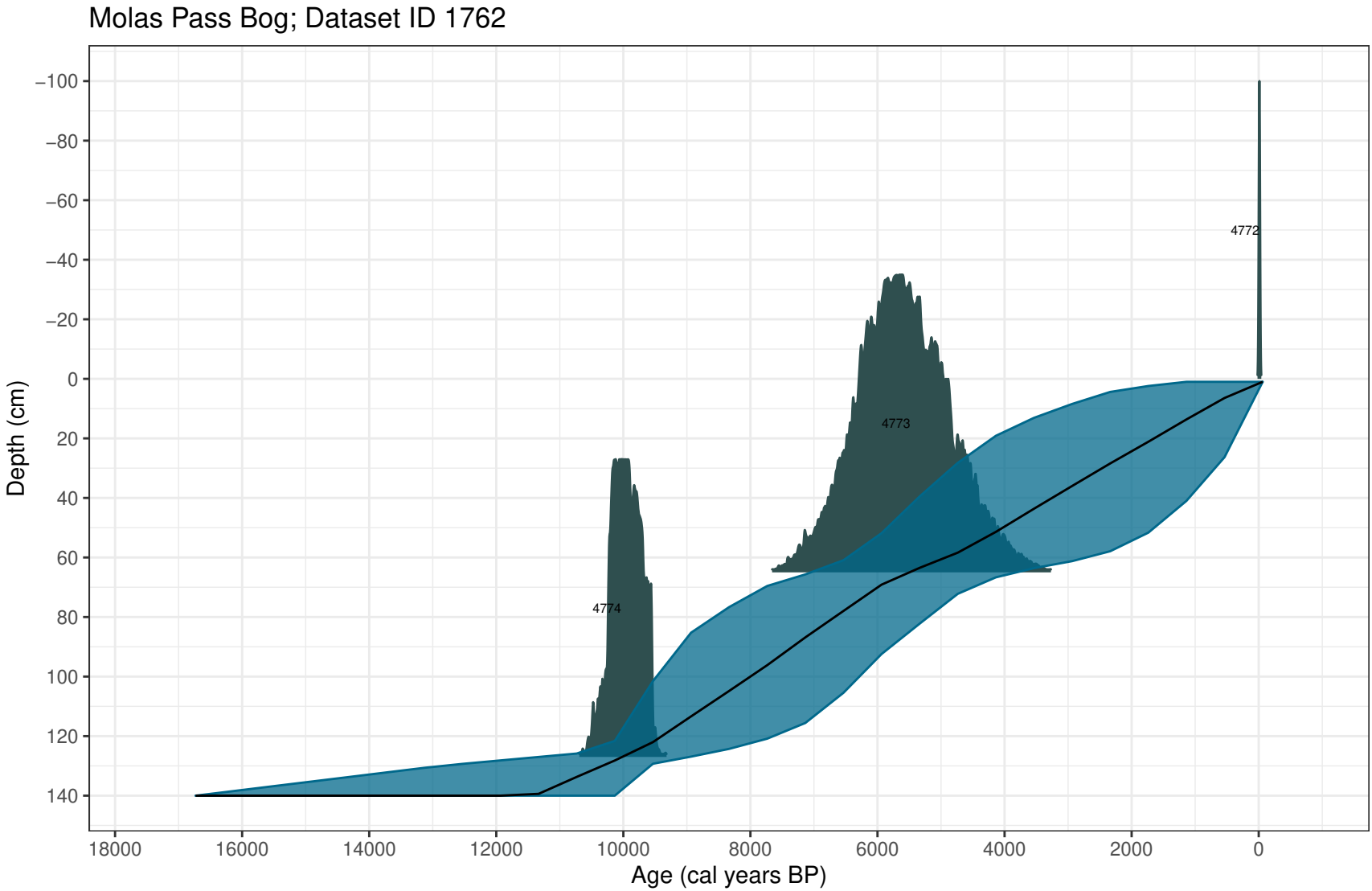
Molas Pass Bog; Dataset ID 1762
Depth (cm)
−100
−80
−60
−40
−20
0
20
40
60
80
100
120
140
4772
4773
4774
18000
16000
14000
12000
10000
8000
6000
4000
2000
0
Age (cal years BP)

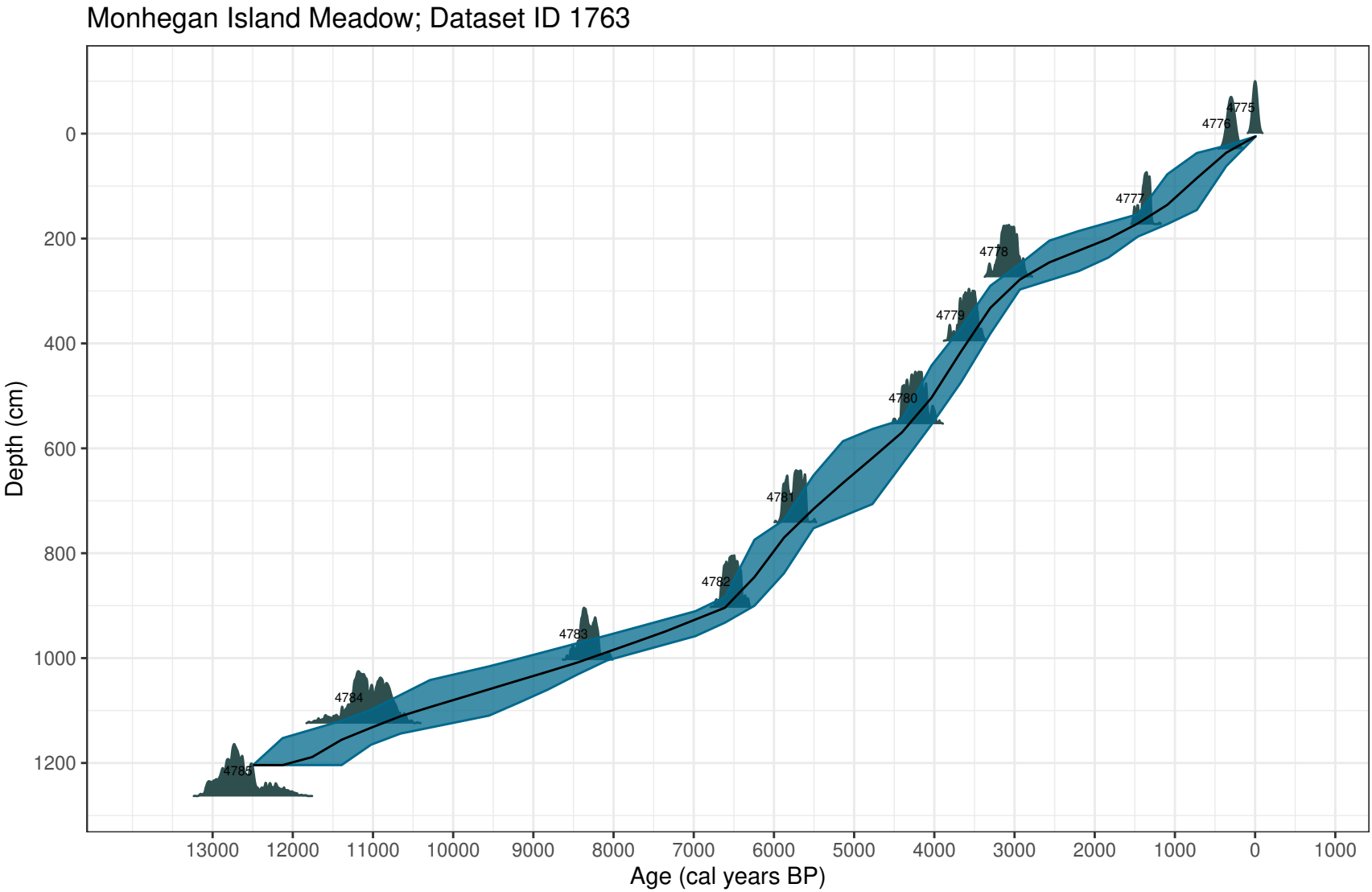
Monhegan Island Meadow; Dataset ID 1763
Depth (cm)
0
200
400
600
800
1000
1200
Age (cal years BP)
13000
12000
11000
10000
9000
8000
7000
6000
5000
4000
3000
2000
1000
0
1000
4775
4776
4777
4778
4779
4780
4781
4782
4783
4784
4785

Lac Montagnais; Dataset ID 1765

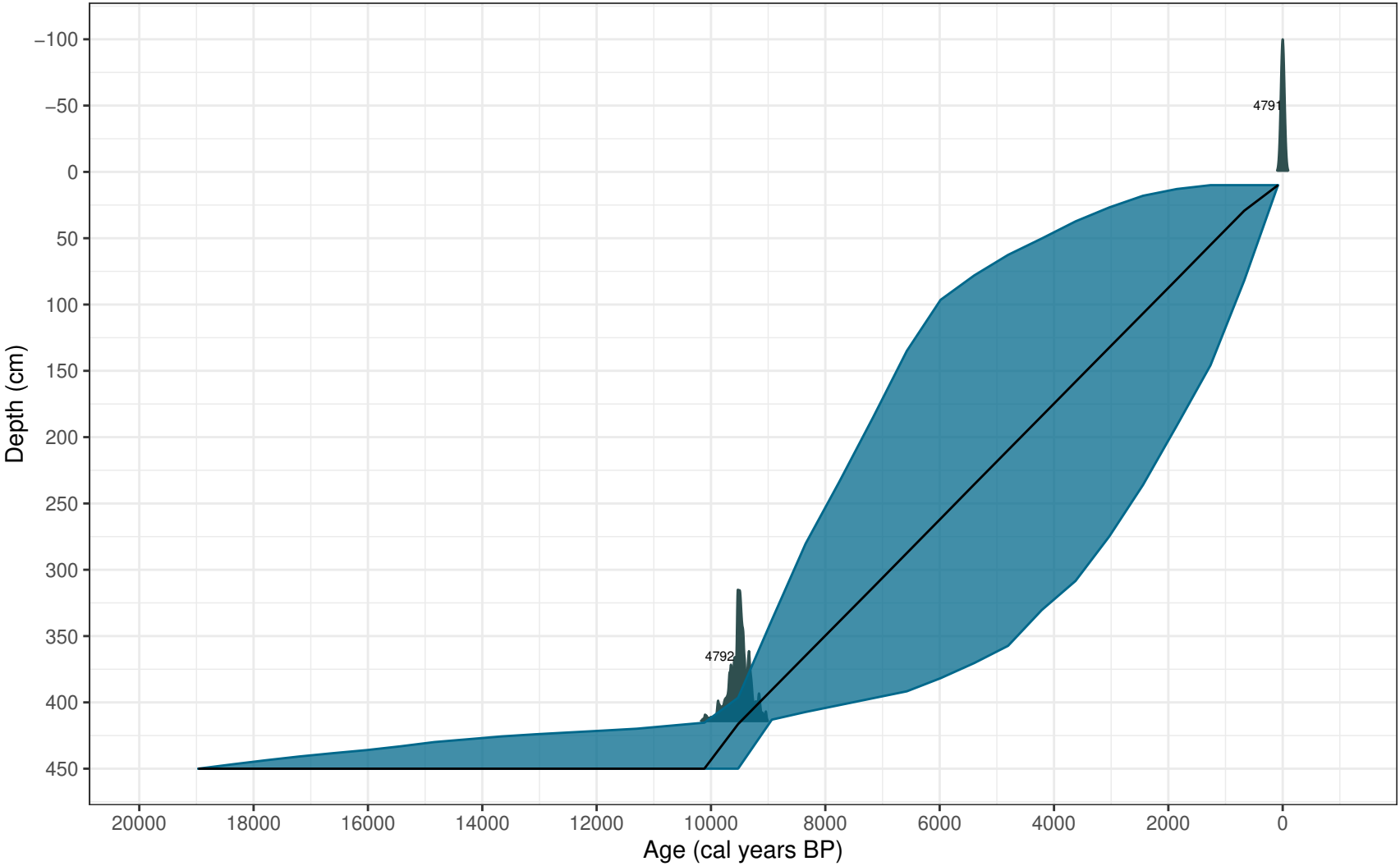

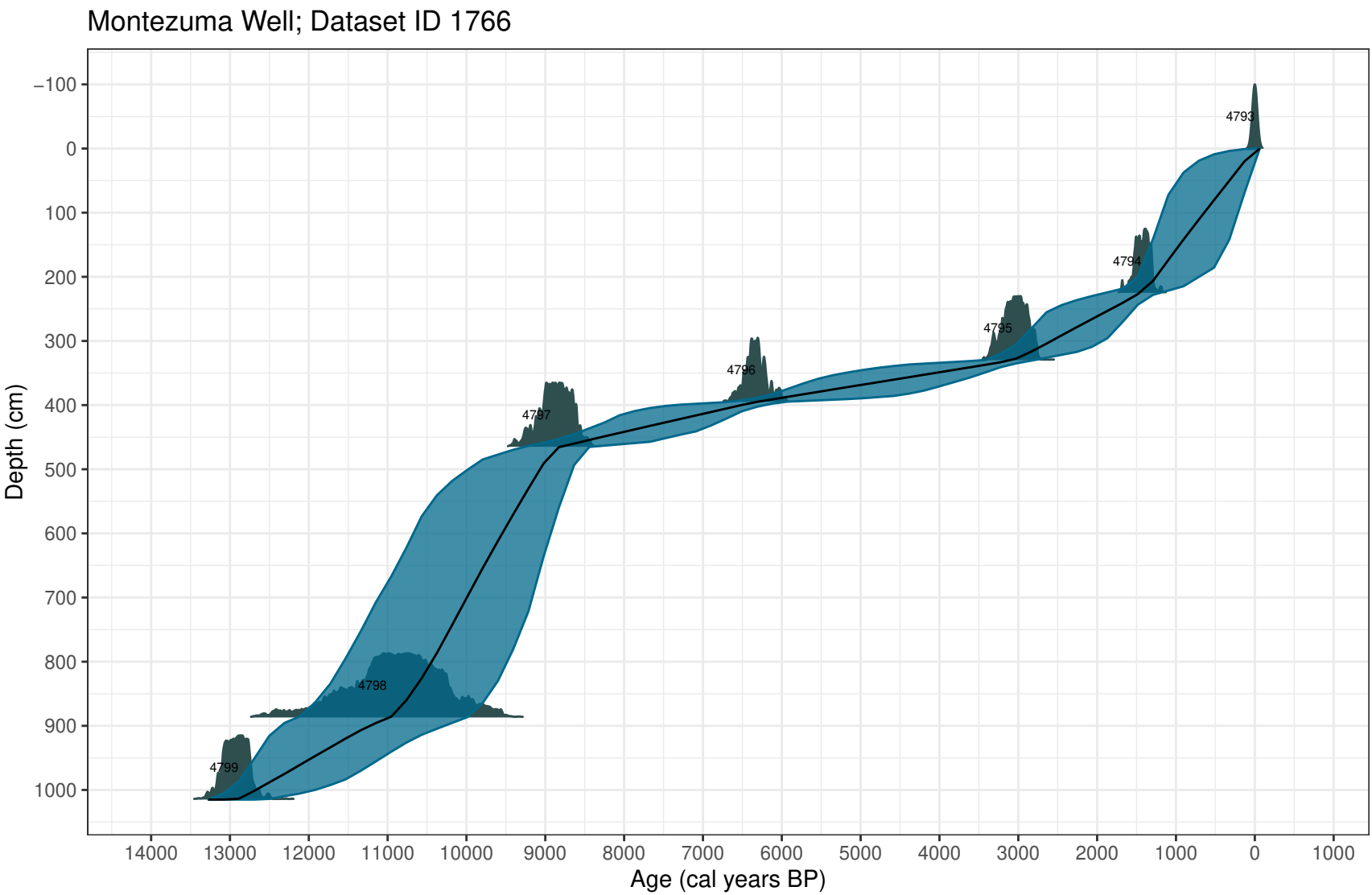
Montezuma Well; Dataset ID 1766
Depth (cm)
Age (cal years BP)
−100
0
100
200
300
400
500
600
700
800
900
1000
14000
13000
12000
11000
10000
9000
8000
7000
6000
5000
4000
3000
2000
1000
0
1000
4793
4794
4795
4796
4797
4798
4799

18 [Moraine Lake]; Dataset ID 1769

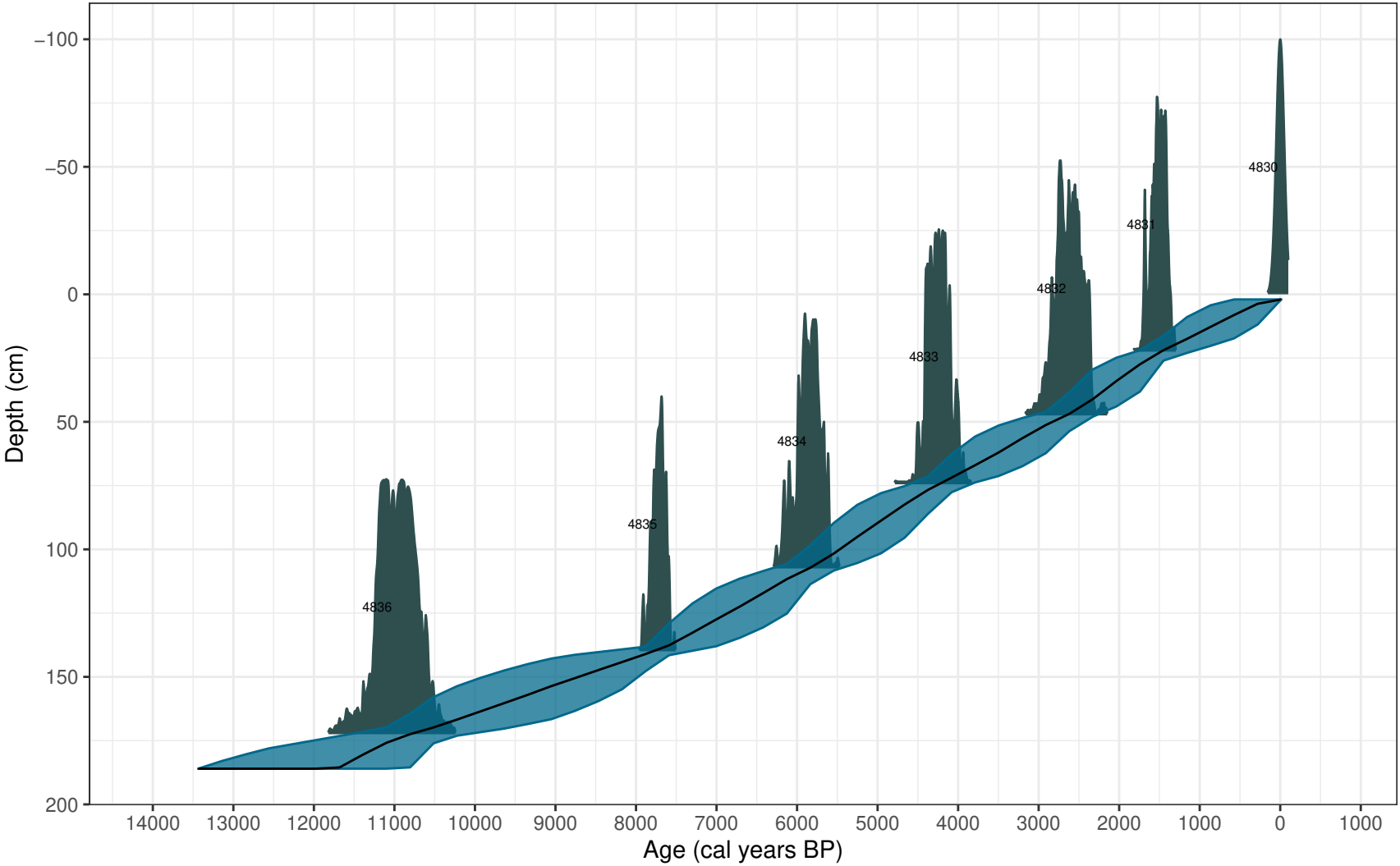

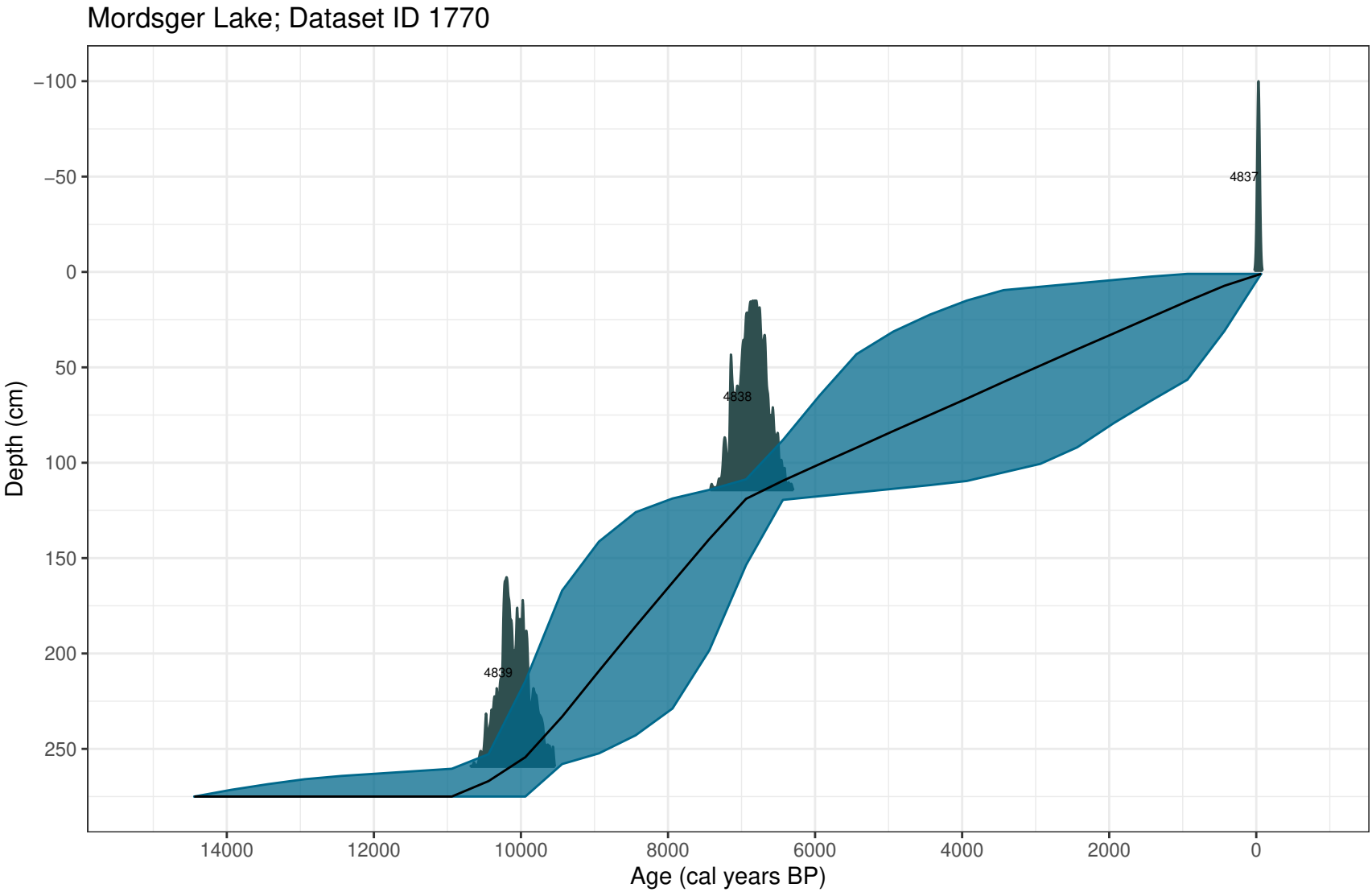
Mordsger Lake; Dataset ID 1770
Depth (cm)
−100
−50
0
50
100
150
200
250
4837
4838
4839
14000
12000
10000
8000
6000
4000
2000
0
Age (cal years BP)

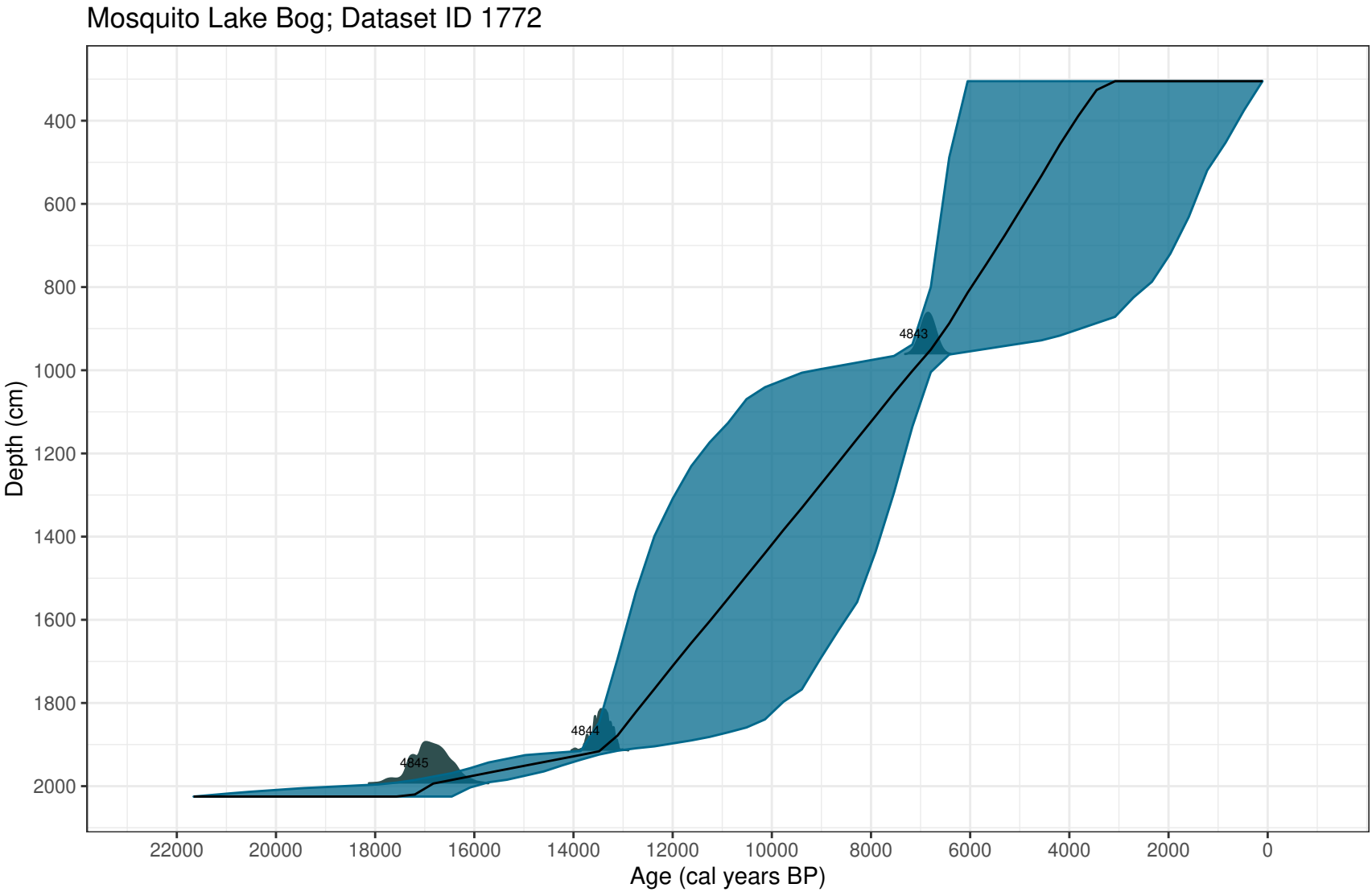
Mosquito Lake Bog; Dataset ID 1772
Depth (cm)
400
600
800
1000
1200
1400
1600
1800
2000
4843
4844
4845
22000
20000
18000
16000
14000
12000
10000
8000
6000
4000
2000
0
Age (cal years BP)

Moulton Pond; Dataset ID 1773

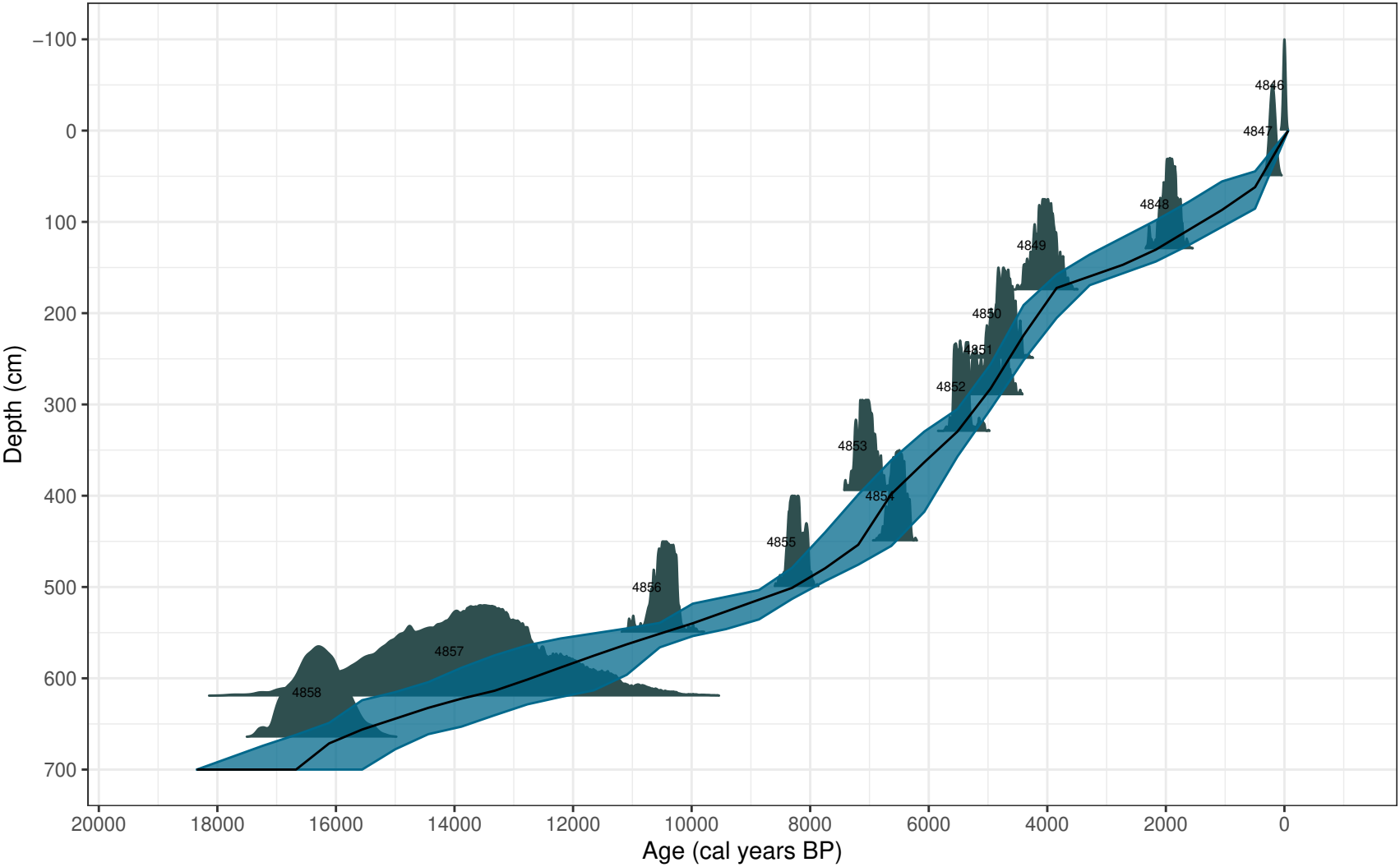

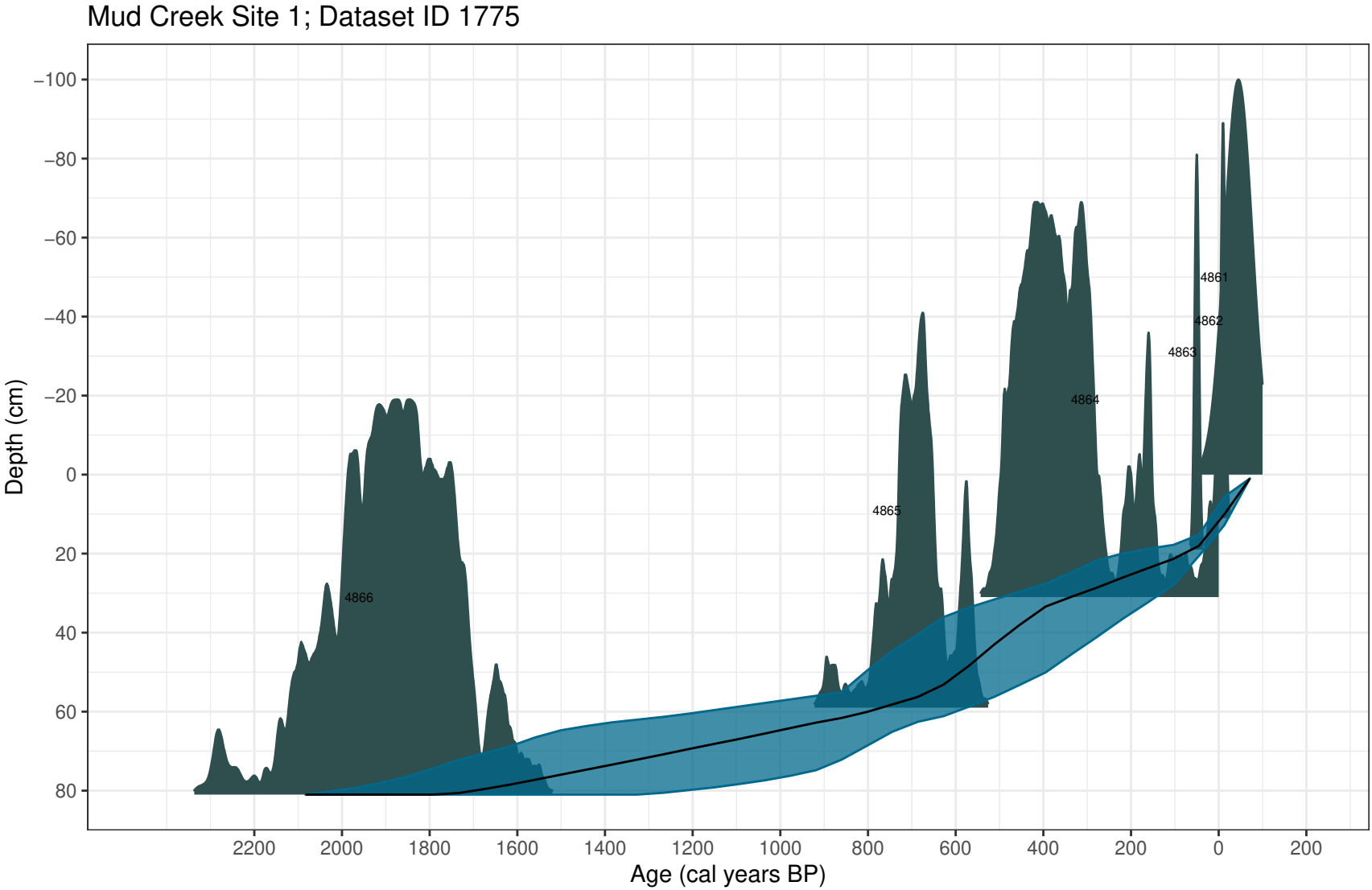
Mud Creek Site 1; Dataset ID 1775
Depth (cm)
−100
−80
−60
−40
−20
0
20
40
60
80
Age (cal years BP)
2200
2000
1800
1600
1400
1200
1000
800
600
400
200
0
200
4866
4865
4864
4863
4862
4861

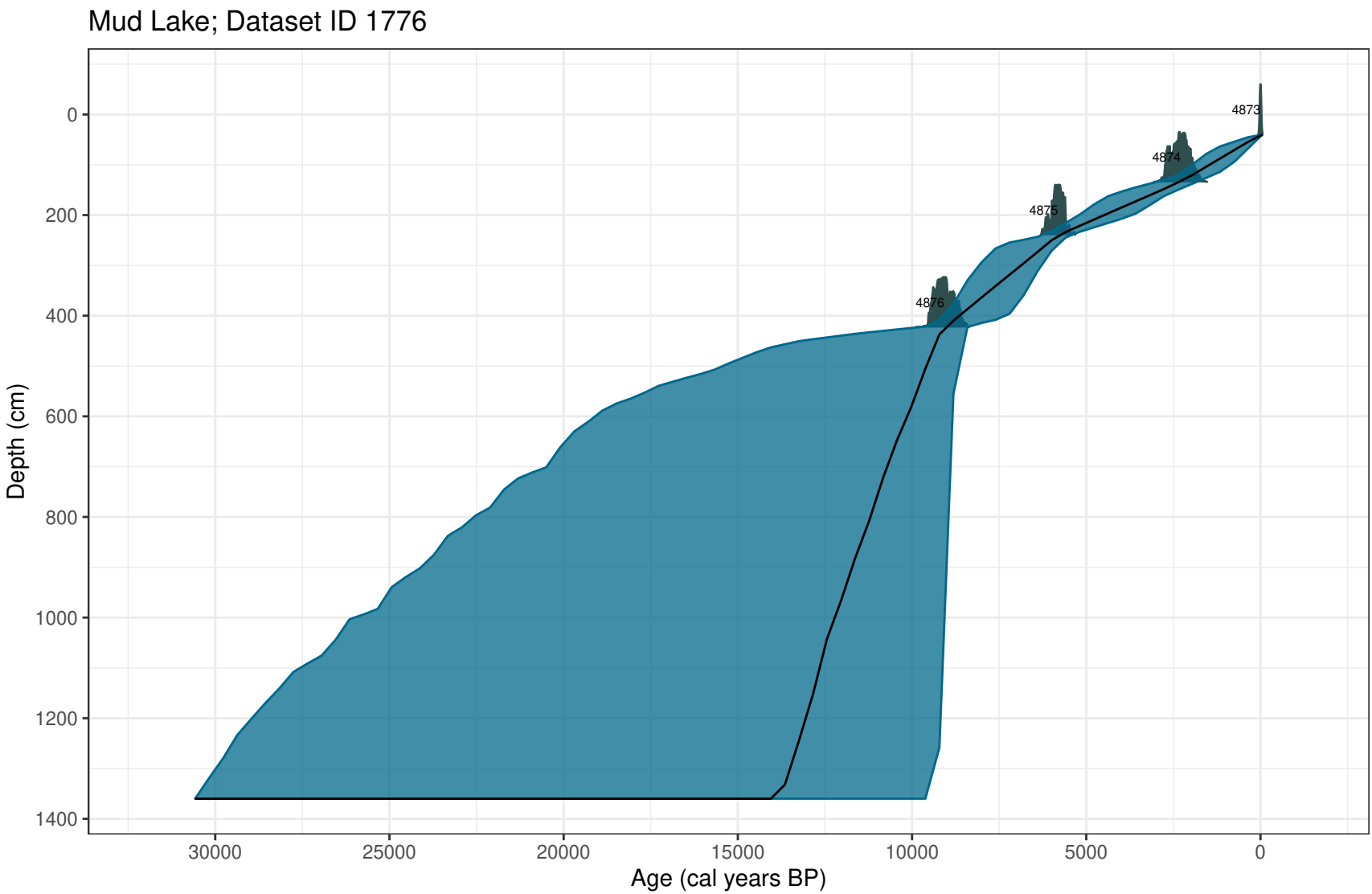
Mud Lake; Dataset ID 1776
Depth (cm)
0
200
400
600
800
1000
1200
1400
Age (cal years BP)
30000
25000
20000
15000
10000
5000
0
4873
4874
4875
4876

Munday Creek; Dataset ID 1780

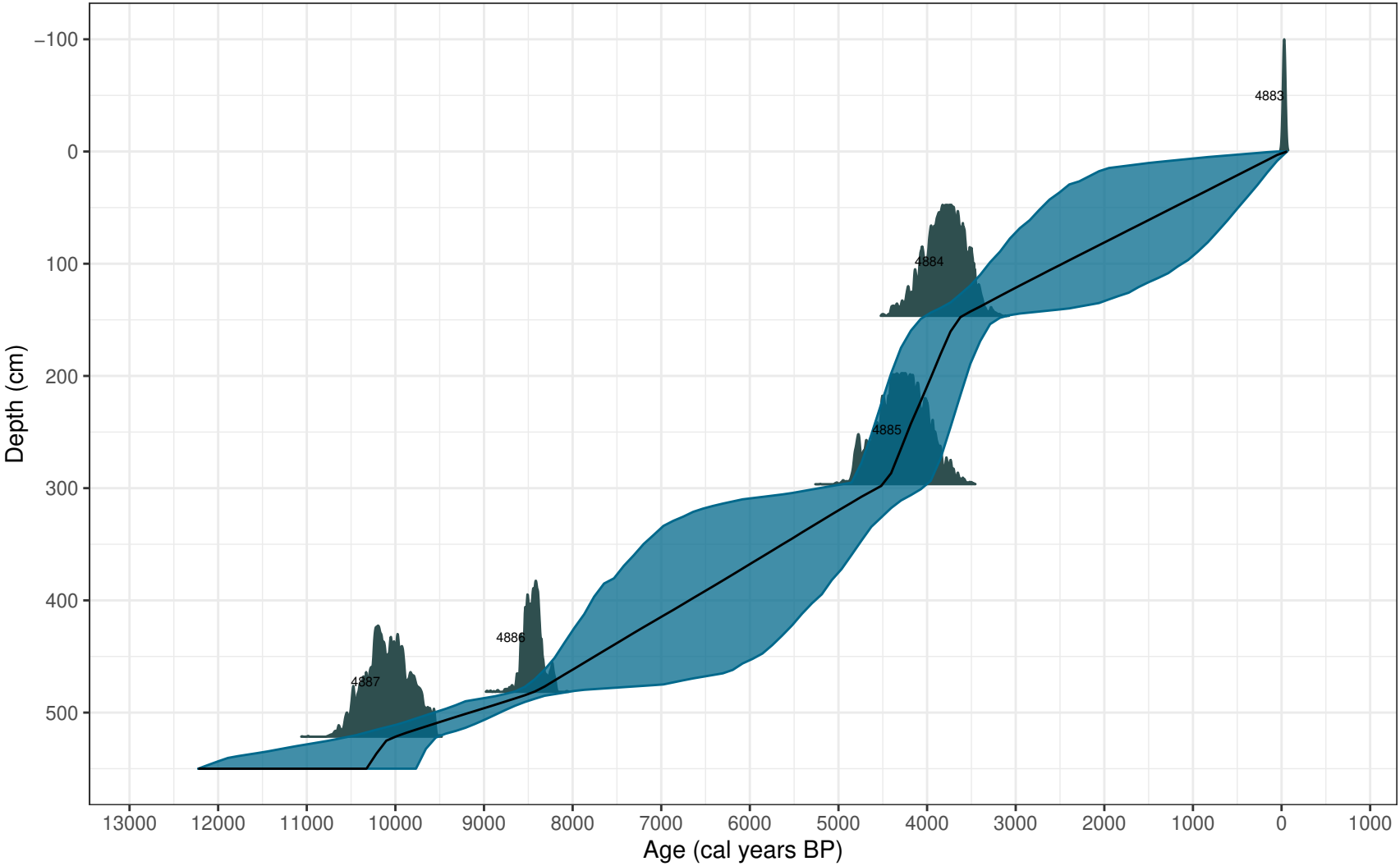

Muscotah Marsh; Dataset ID 1782

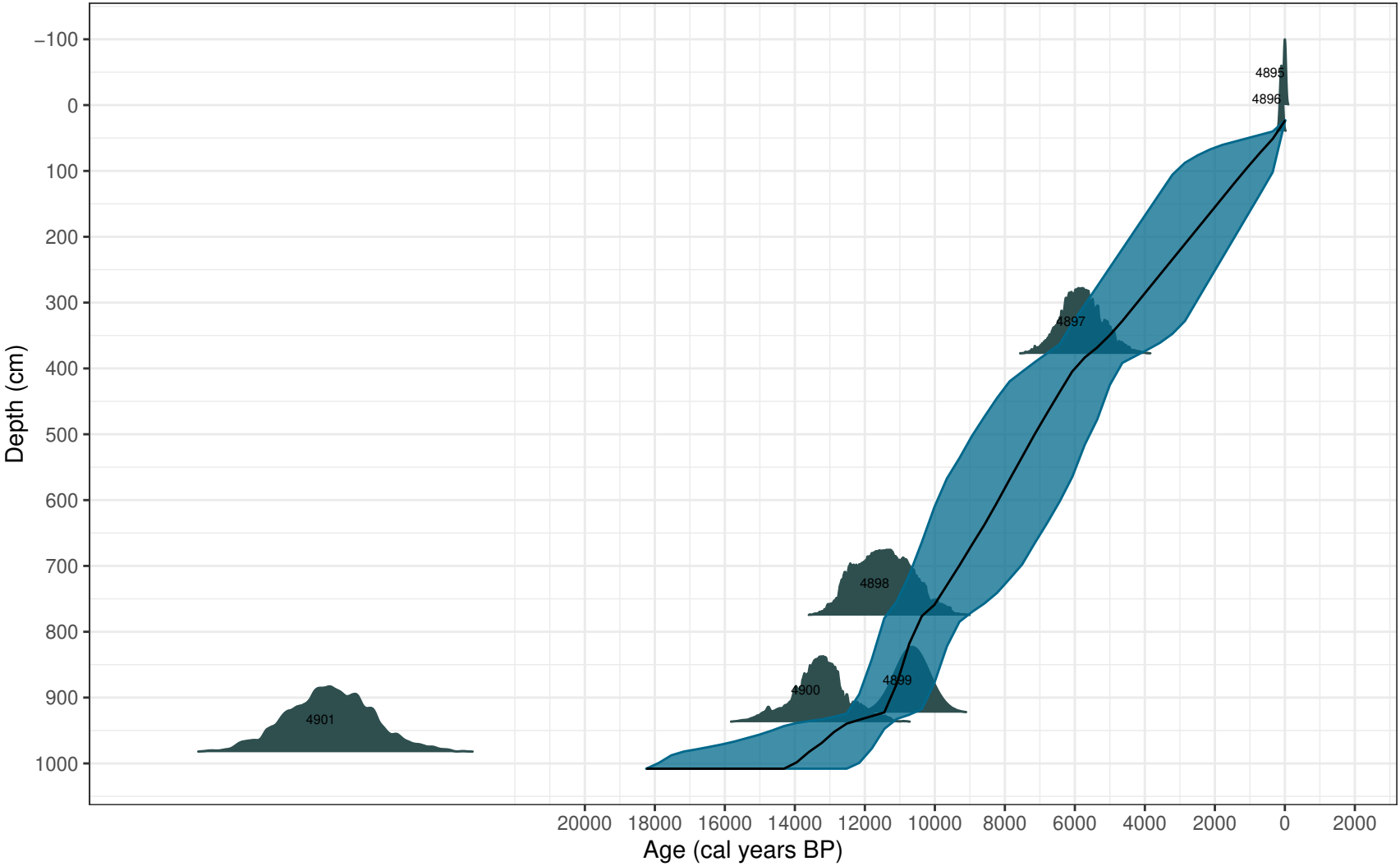

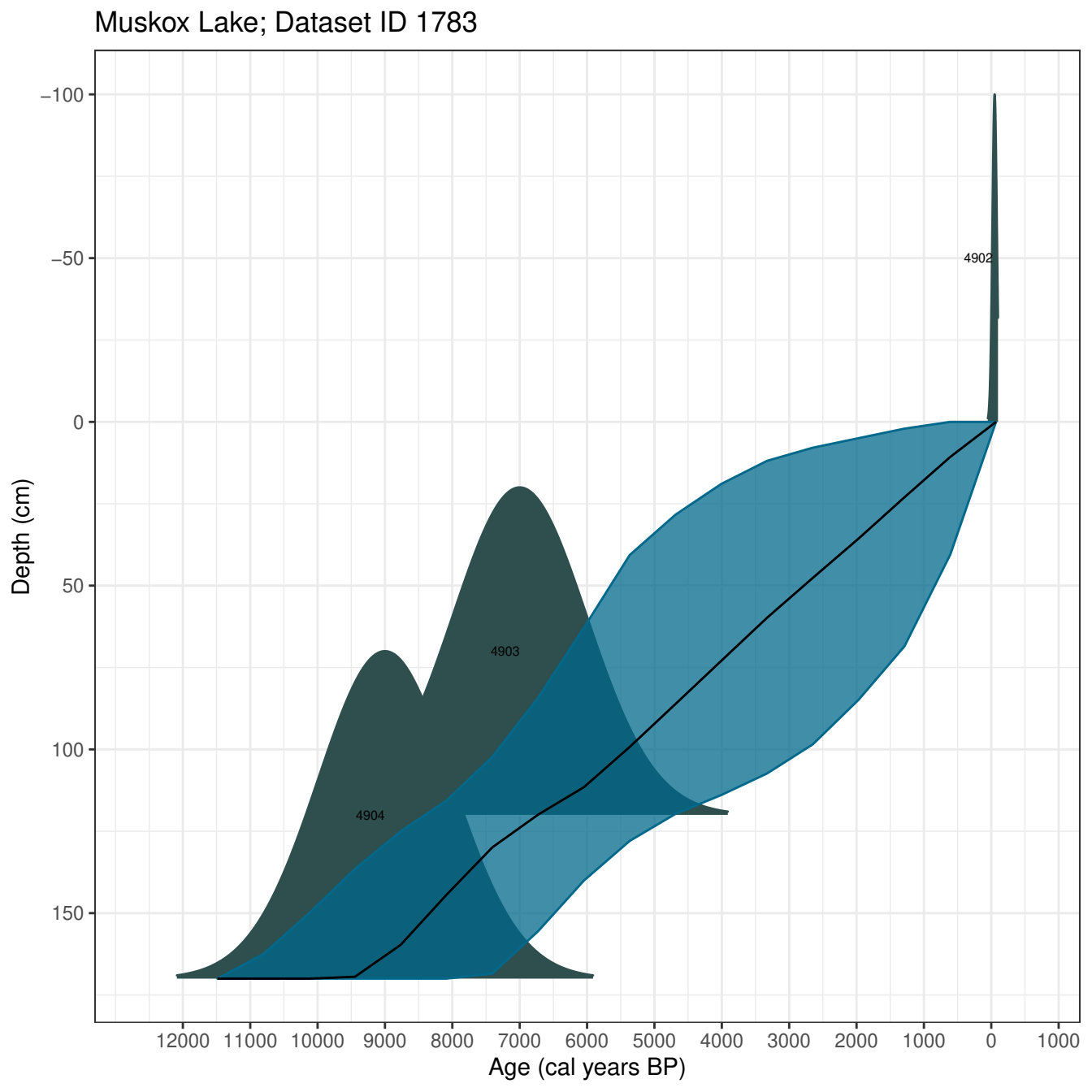
Muskox Lake; Dataset ID 1783
Depth (cm)
−100
−50
0
50
100
150
4902
4903
4904
12000
11000
10000
9000
8000
7000
6000
5000
4000
3000
2000
1000
0
1000
Age (cal years BP)

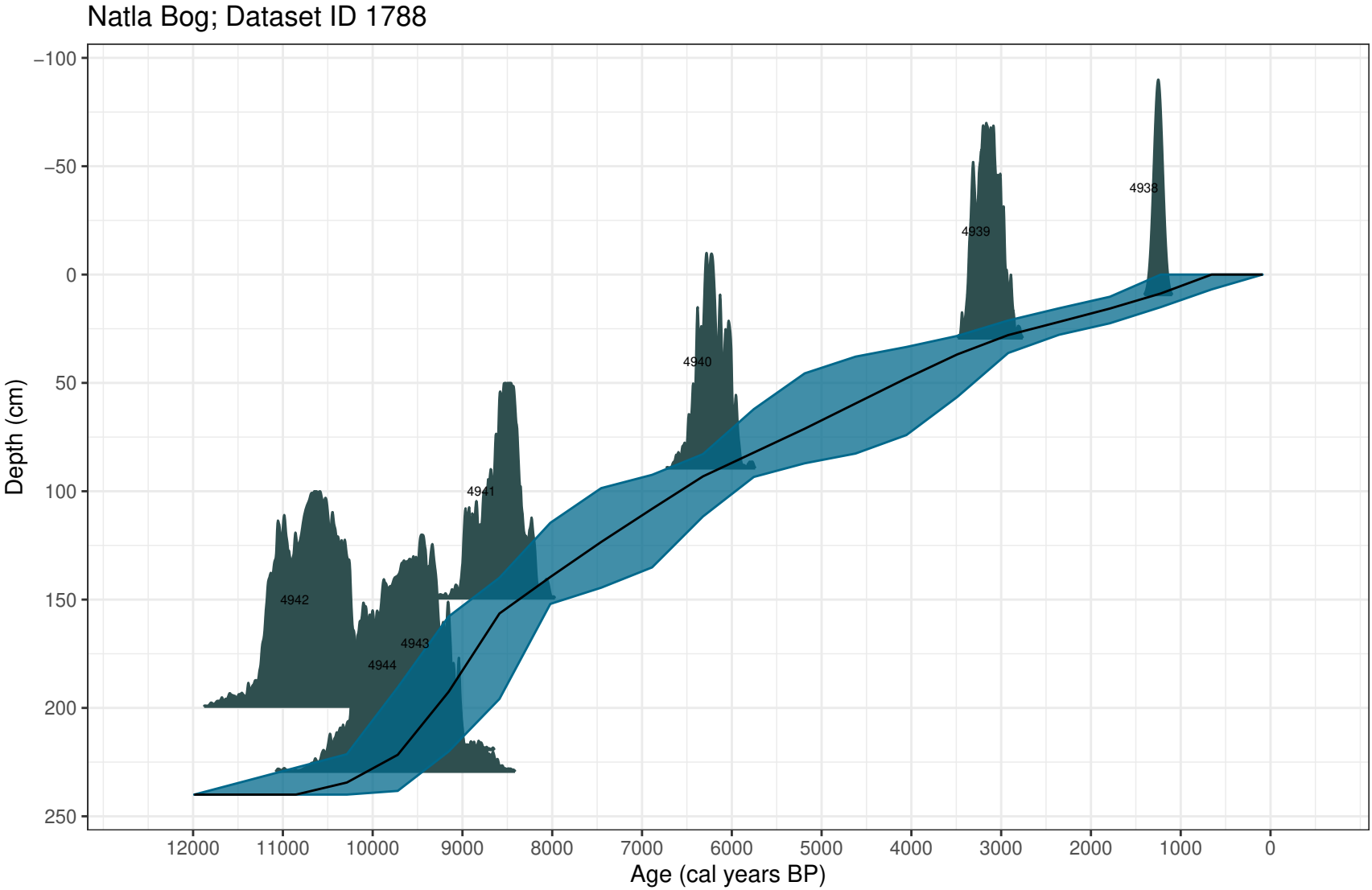
Natla Bog; Dataset ID 1788
Depth (cm)
−100
−50
0
50
100
150
200
250
Age (cal years BP)
12000
11000
10000
9000
8000
7000
6000
5000
4000
3000
2000
1000
0
4938
4939
4940
4941
4942
4943
4944

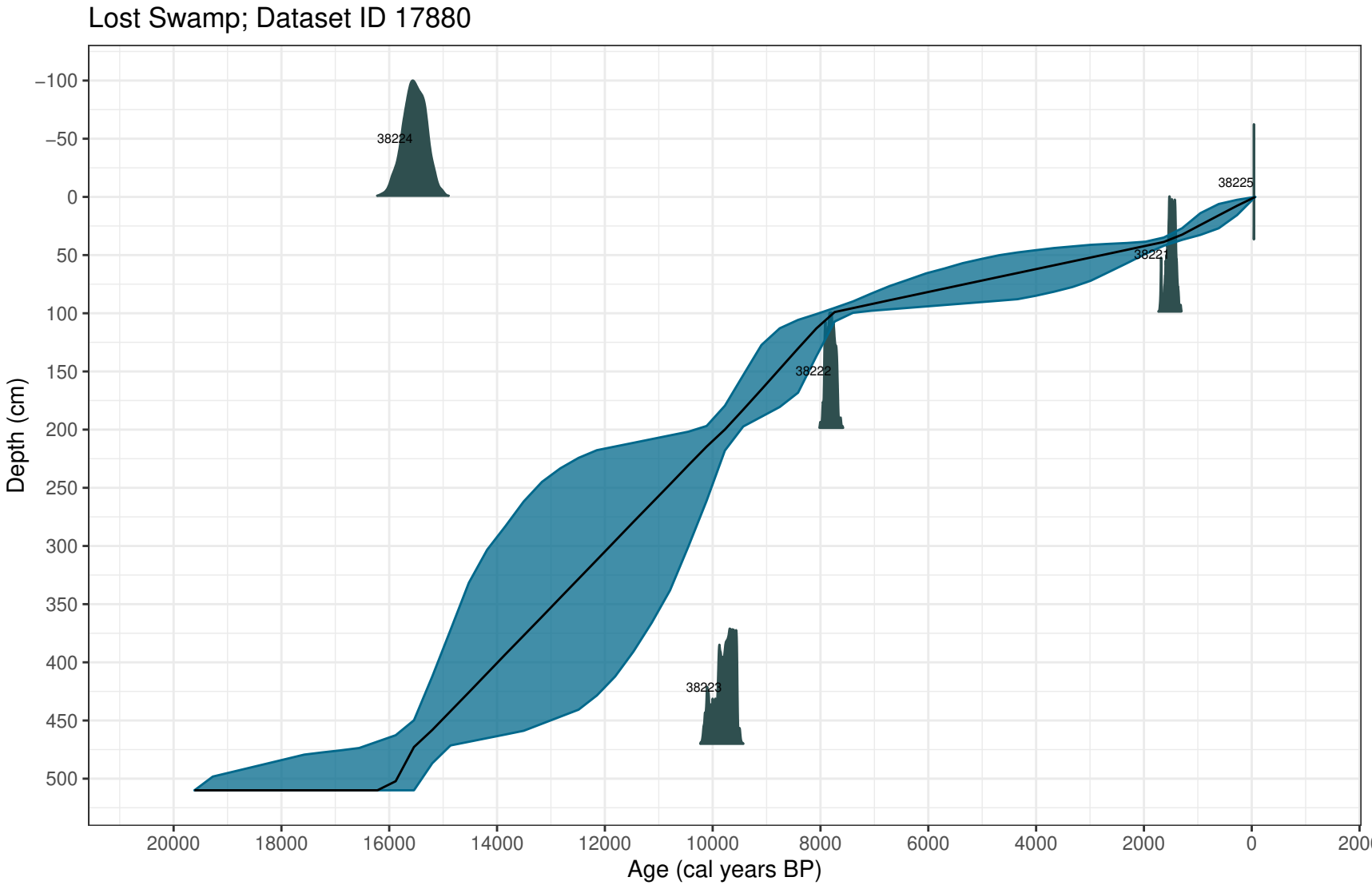
Lost Swamp; Dataset ID 17880
Depth (cm)
Age (cal years BP)
38224
38225
38221
38222
38223
−100
−50
0
50
100
150
200
250
300
350
400
450
500
20000
18000
16000
14000
12000
10000
8000
6000
4000
2000
0

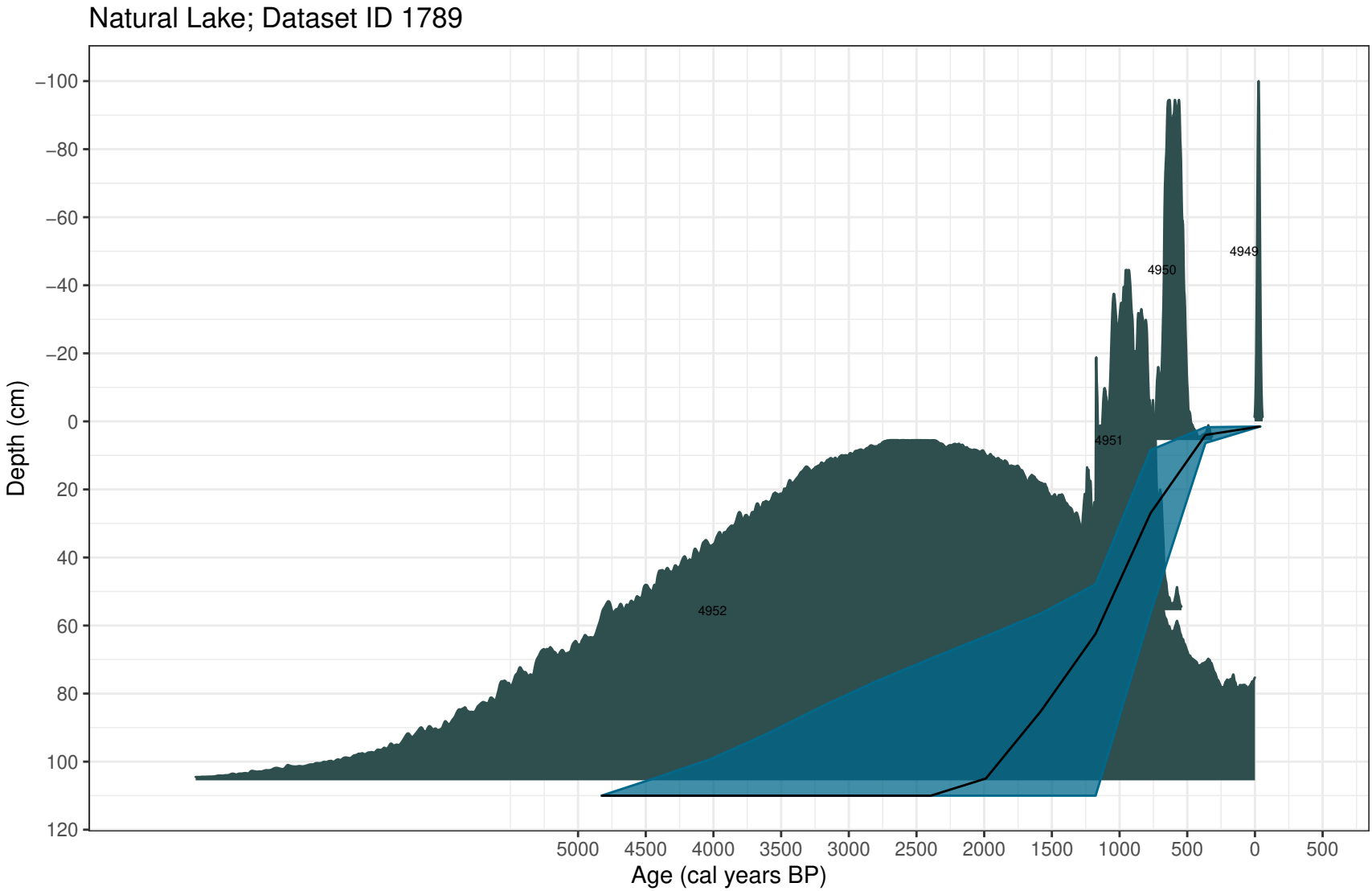
Natural Lake; Dataset ID 1789
Depth (cm)
−100
−80
−60
−40
−20
0
20
40
60
80
100
120
4949
4950
4951
4952
5000
4500
4000
3500
3000
2500
2000
1500
1000
500
0
500
Age (cal years BP)

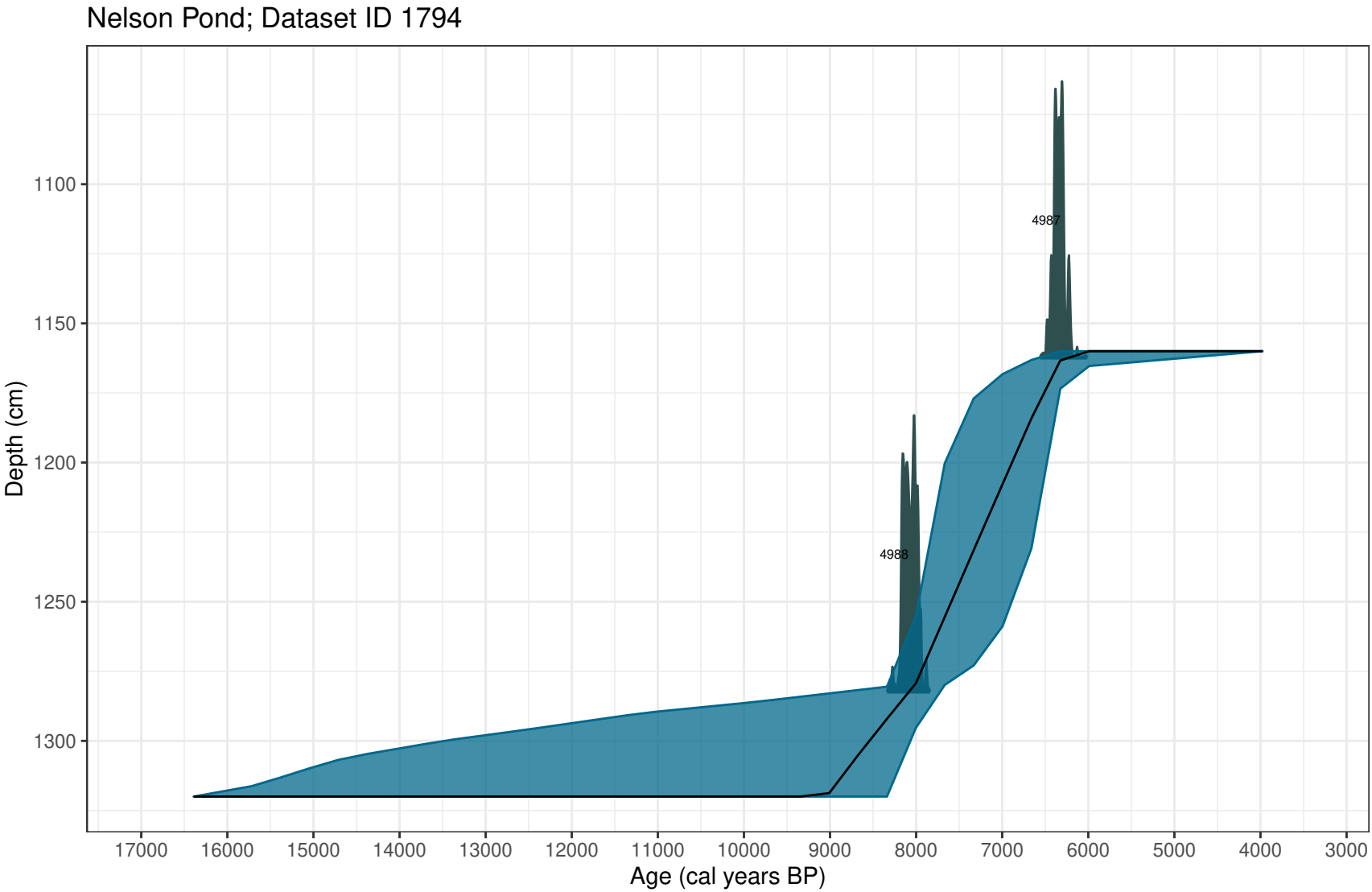
Nelson Pond; Dataset ID 1794
Depth (cm)
1100
1150
1200
1250
1300
4987
4988
17000
16000
15000
14000
13000
12000
11000
10000
9000
8000
7000
6000
5000
4000
3000
Age (cal years BP)

Neville Marsh; Dataset ID 1796

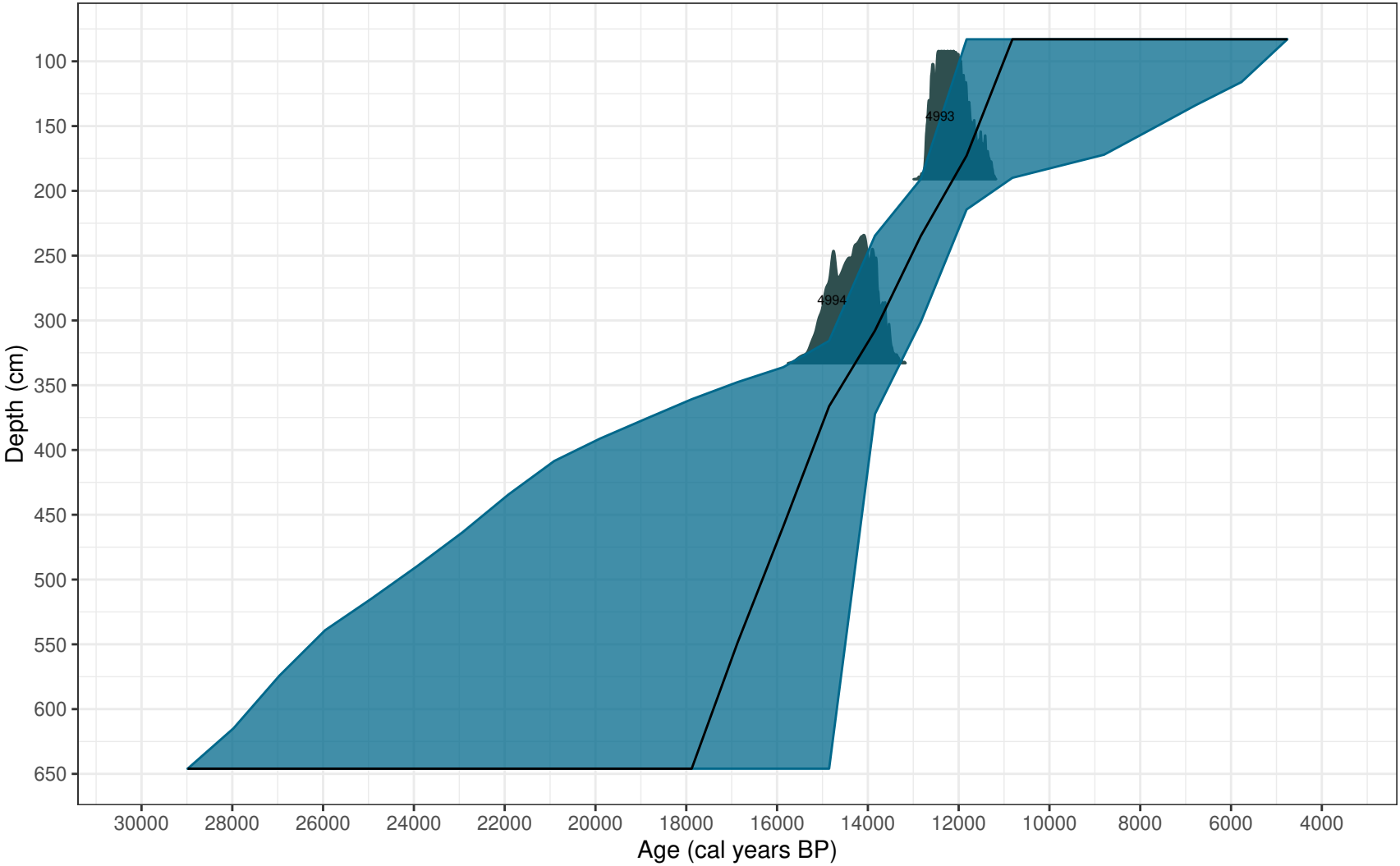

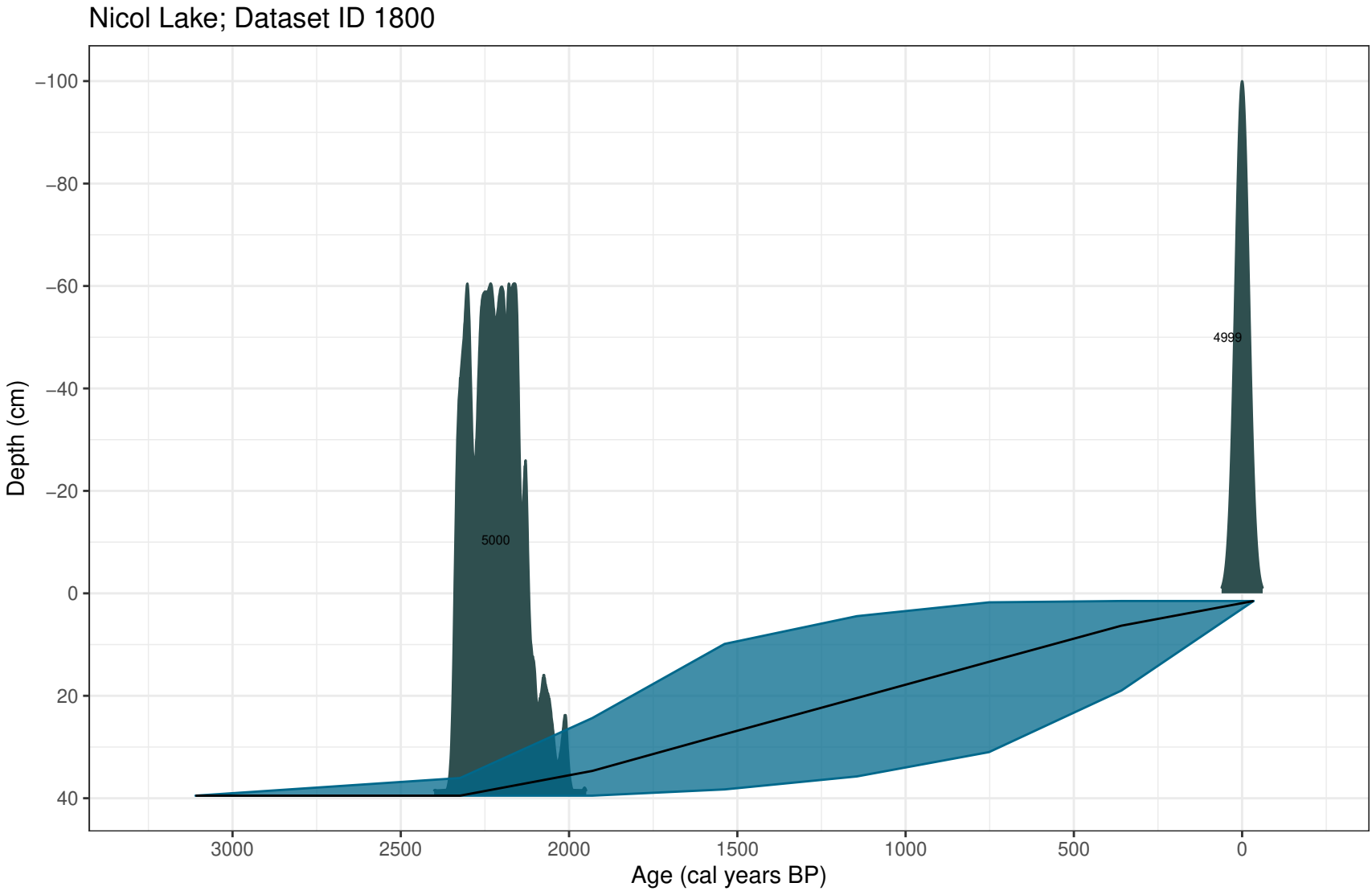
Nicol Lake; Dataset ID 1800
Depth (cm)
−100
−80
−60
−40
−20
0
20
40
5000
4999
3000
2500
2000
1500
1000
500
0
Age (cal years BP)

Niliq Lake; Dataset ID 1806

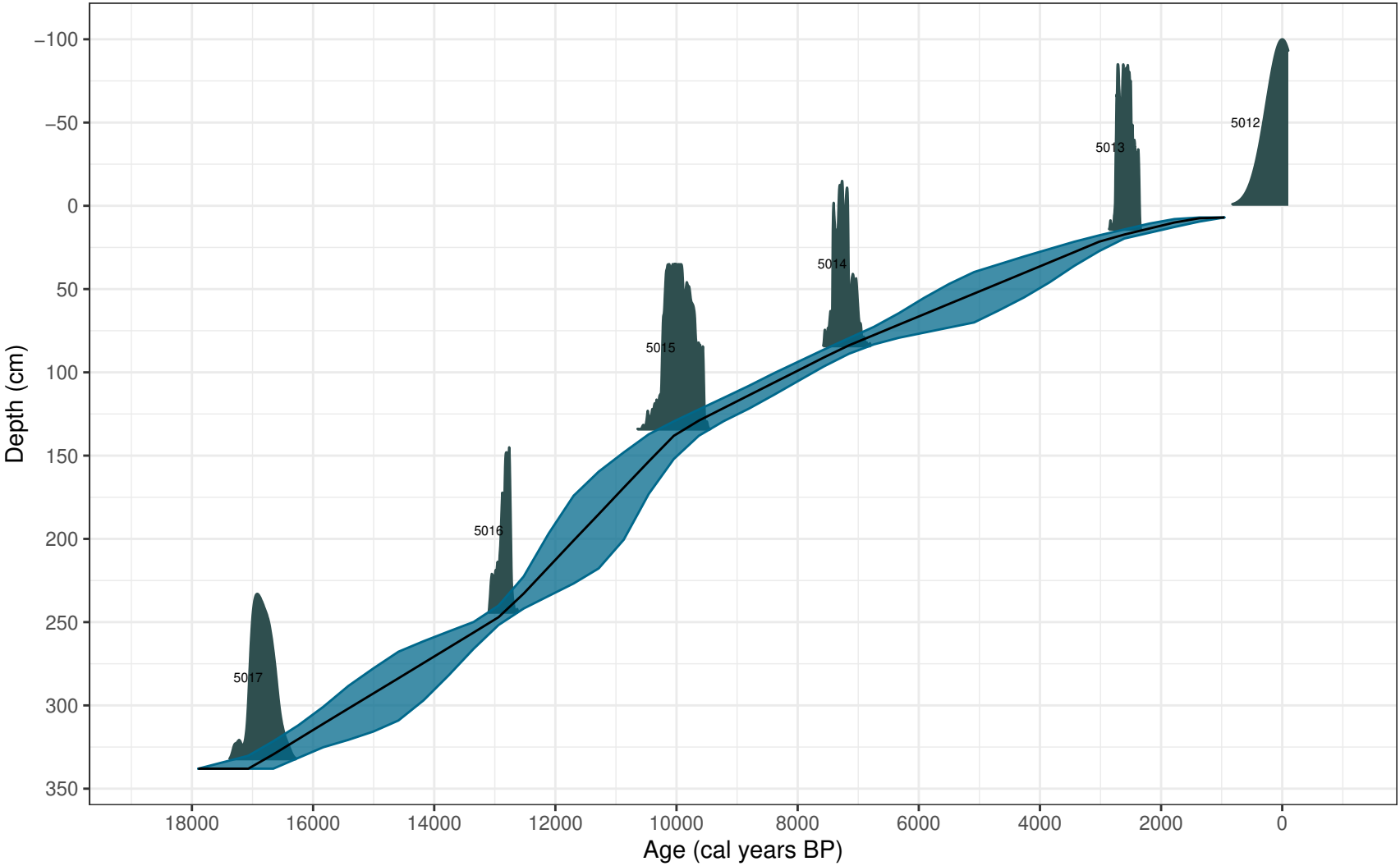

Nina Lake; Dataset ID 1807

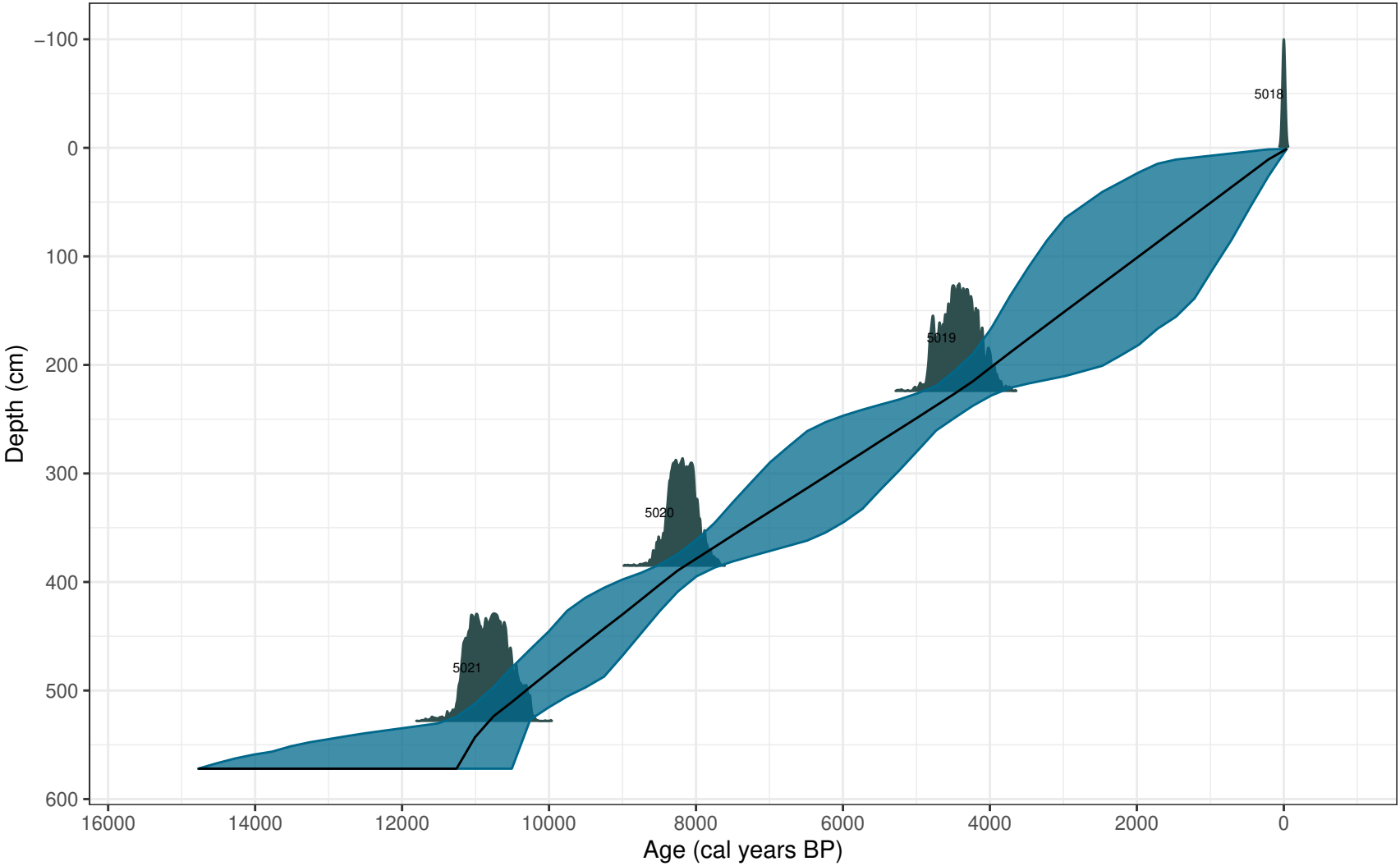

No Bottom Pond; Dataset ID 1814

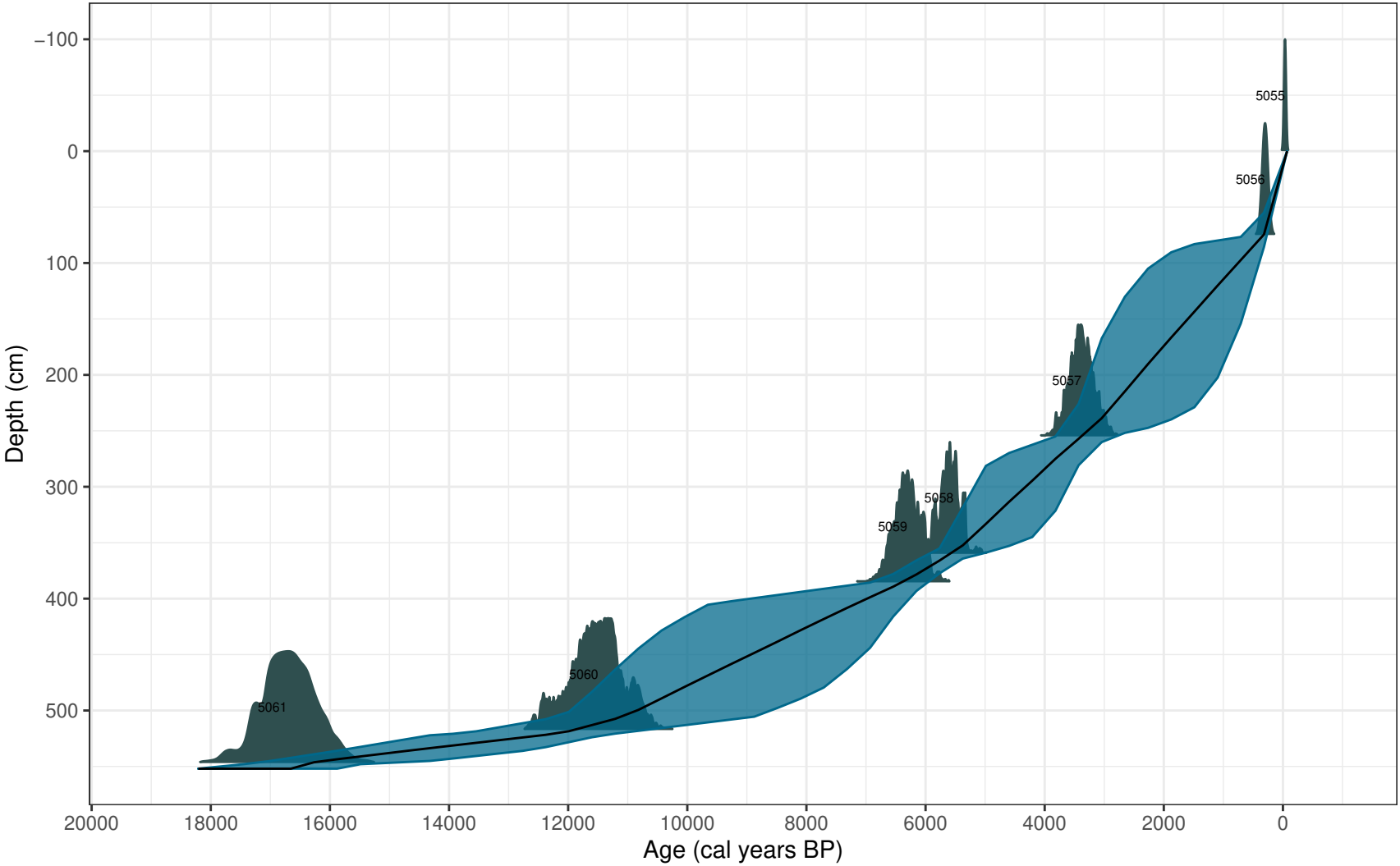

North Pond; Dataset ID 1817

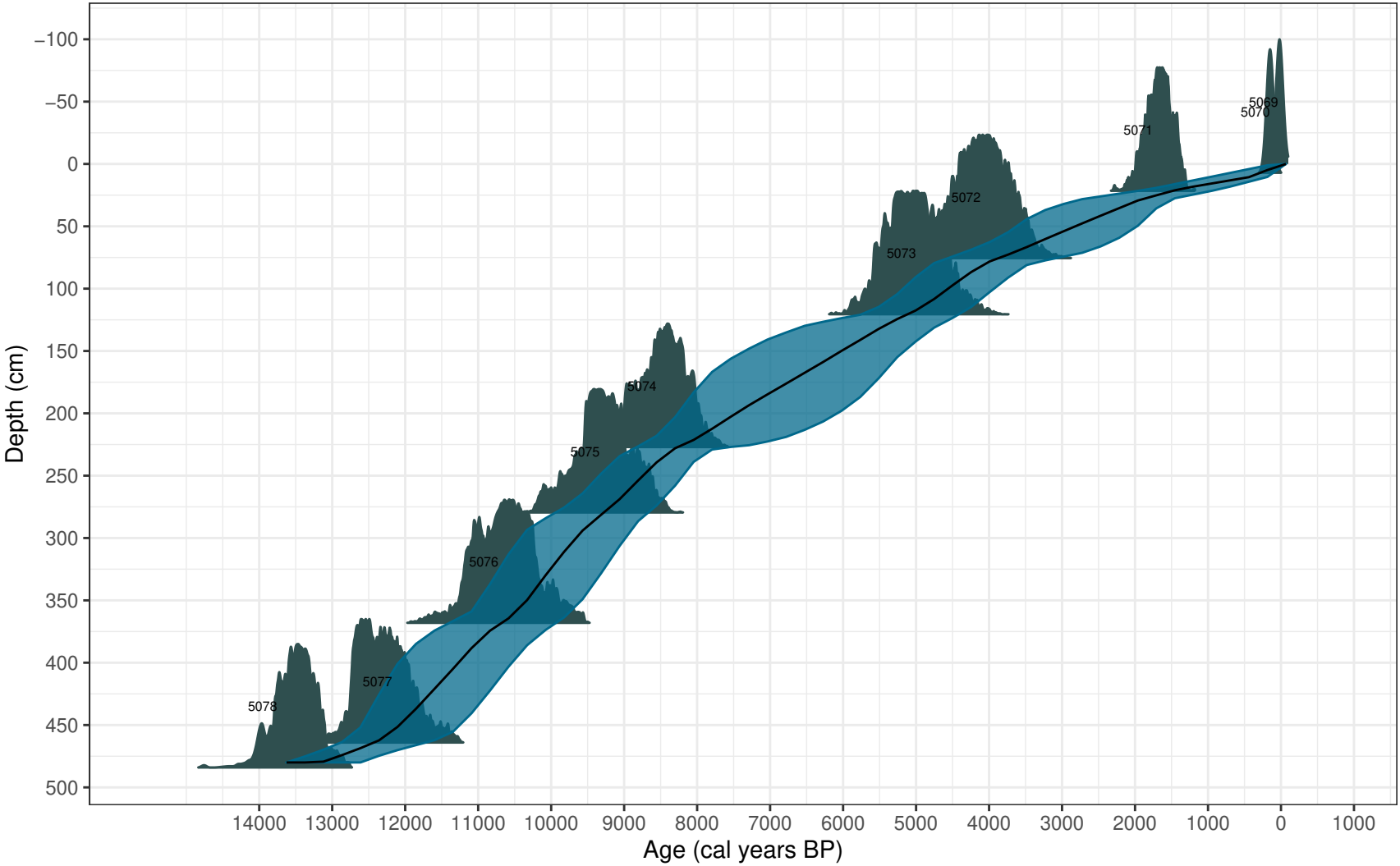

Northwest River Pond; Dataset ID 1821

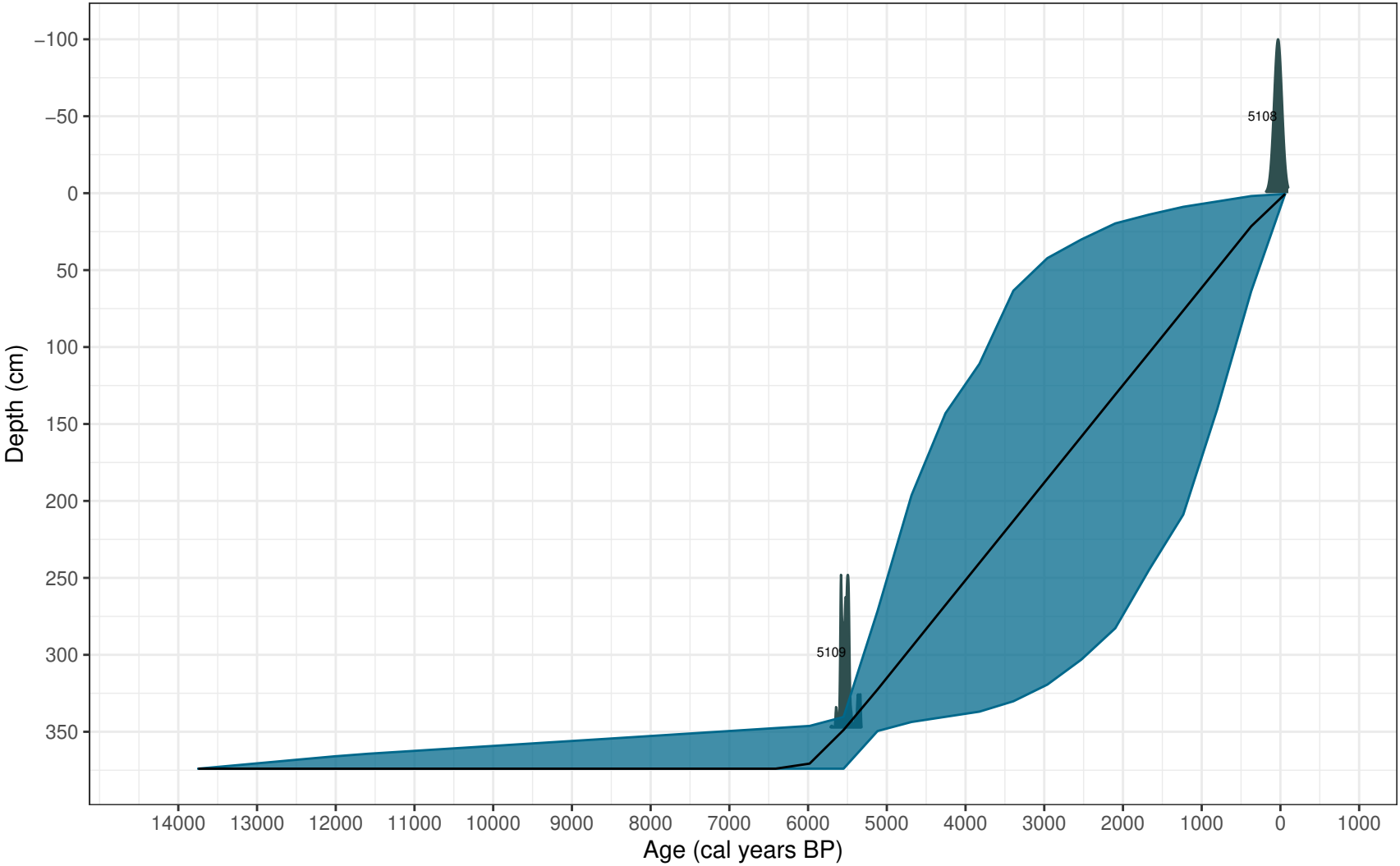

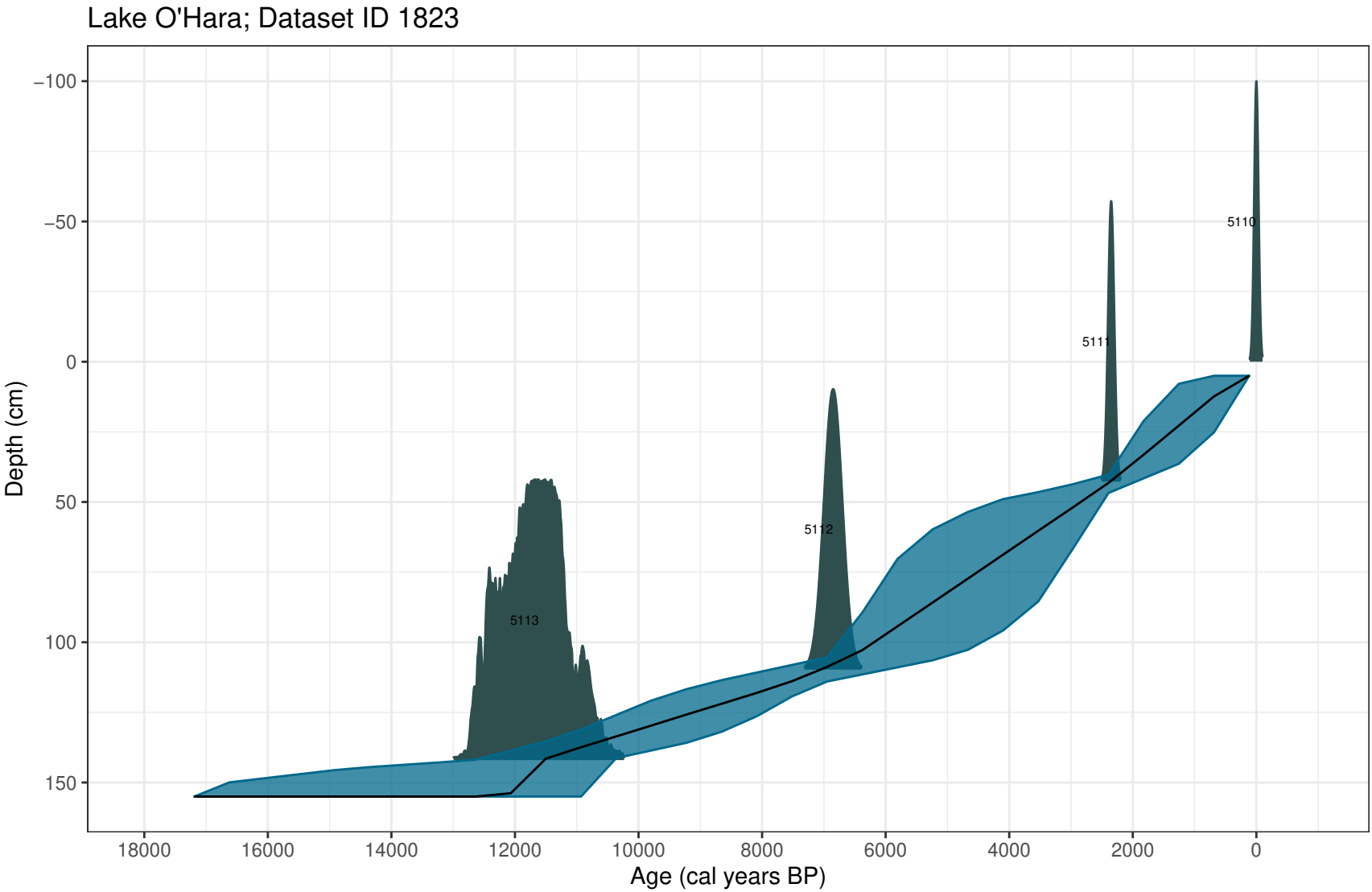
Lake O'Hara; Dataset ID 1823
Depth (cm)
−100
−50
0
50
100
150
5110
5111
5112
5113
18000
16000
14000
12000
10000
8000
6000
4000
2000
0
Age (cal years BP)

Old Field; Dataset ID 1826

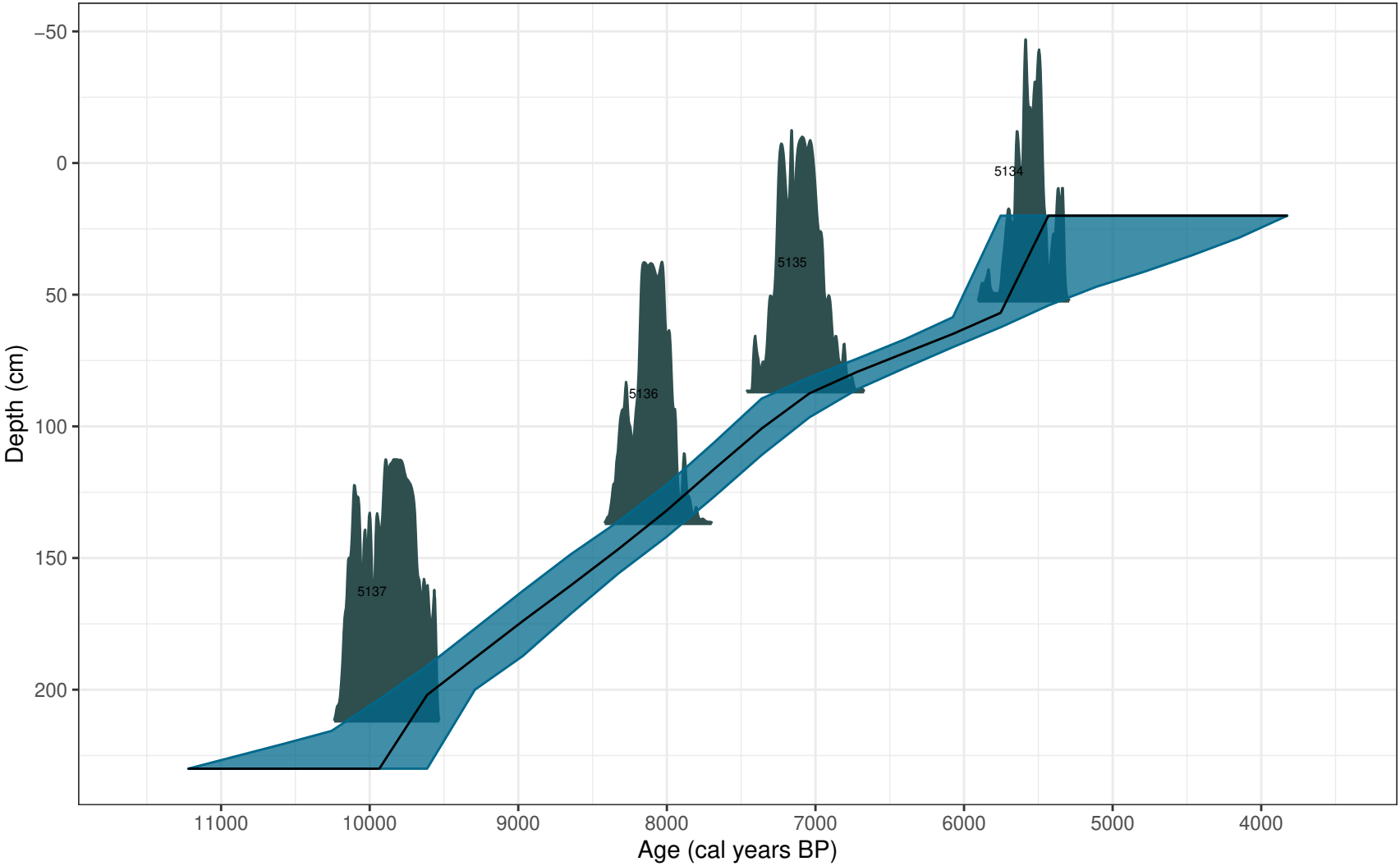

Oliver Pond; Dataset ID 1829

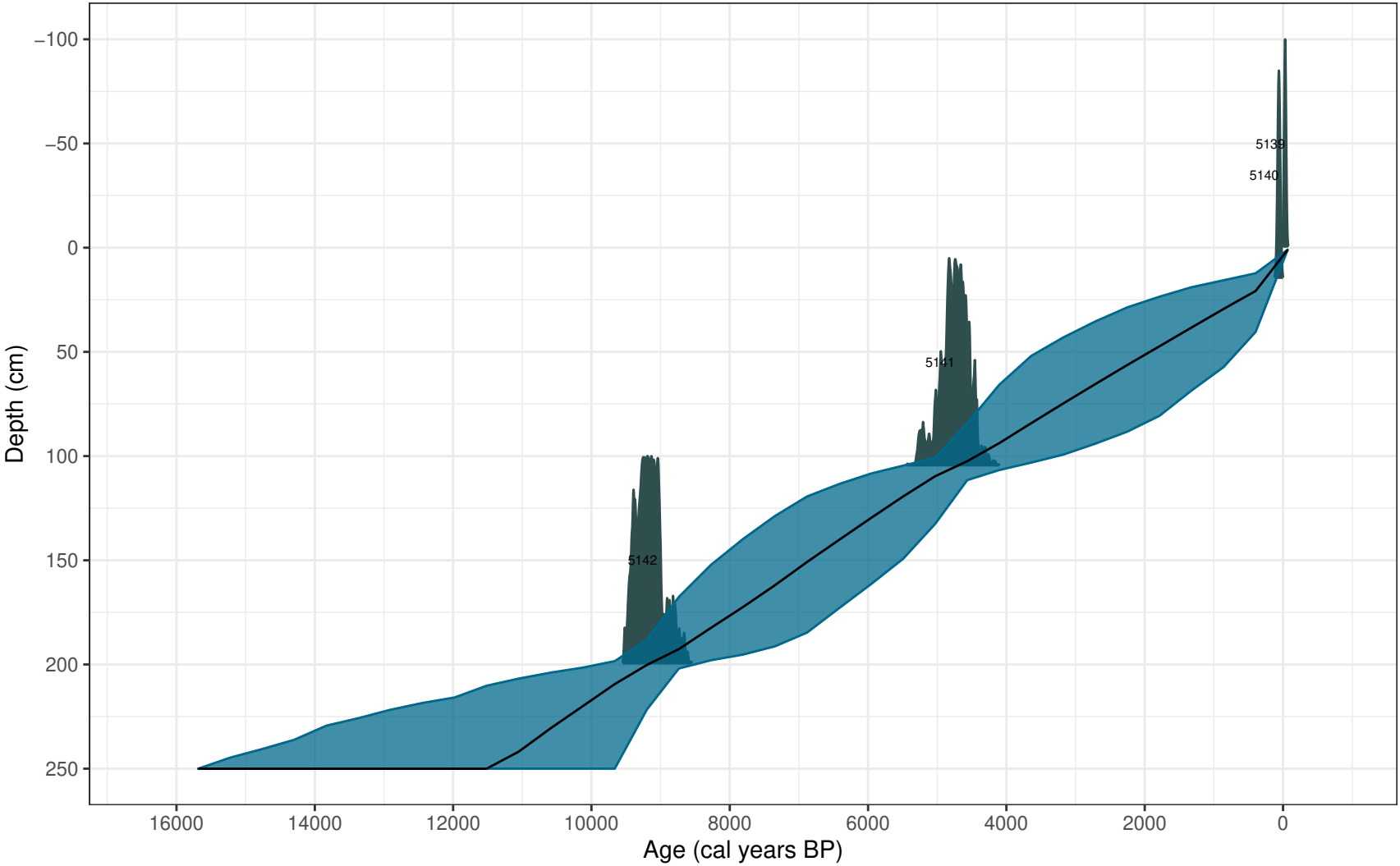

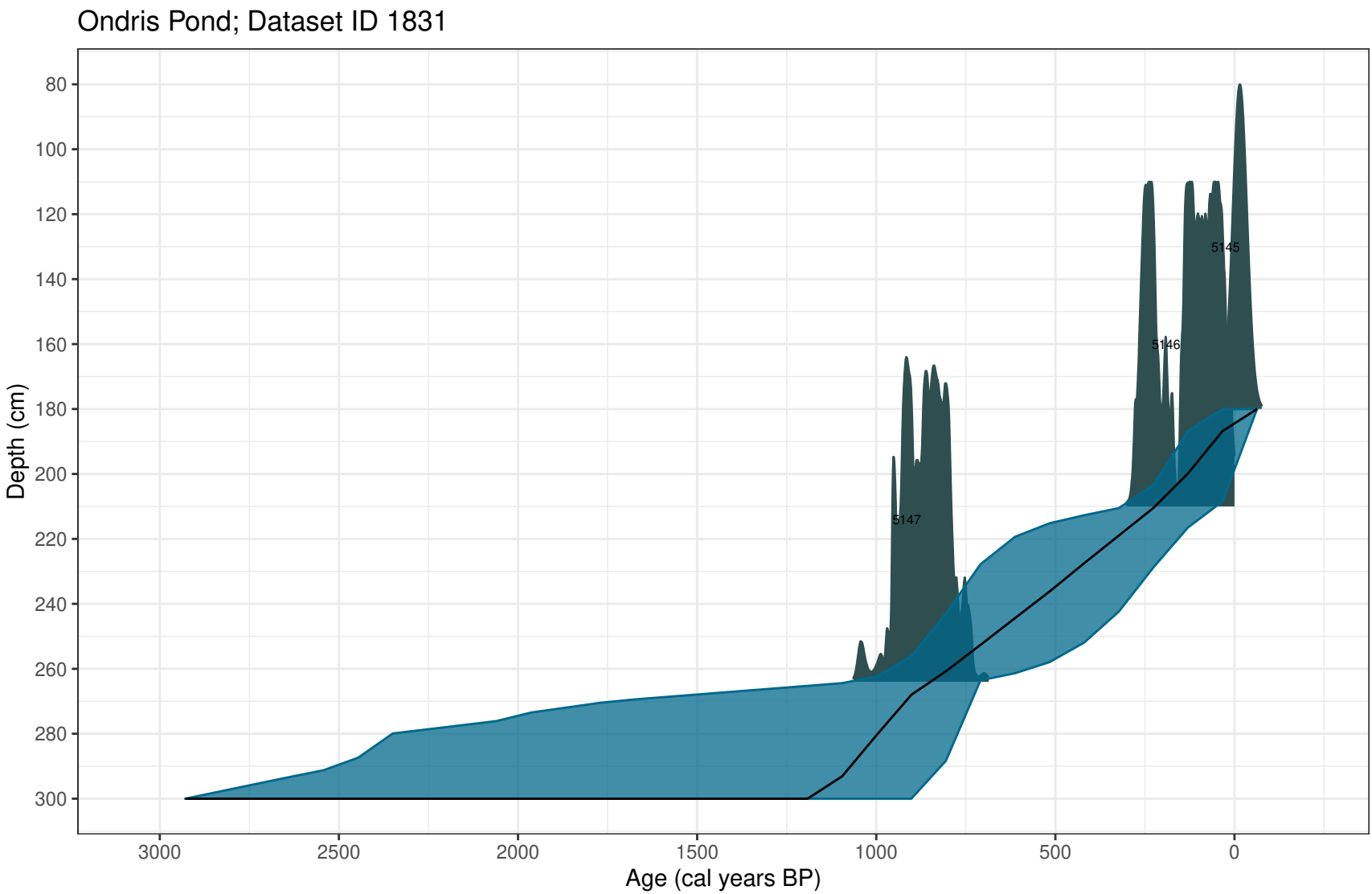
Ondris Pond; Dataset ID 1831
Depth (cm)
80
100
120
140
160
180
200
220
240
260
280
300
5145
5146
5147
3000
2500
2000
1500
1000
500
0
Age (cal years BP)

Lake Ontario, Rochester Basin; Dataset ID 1833

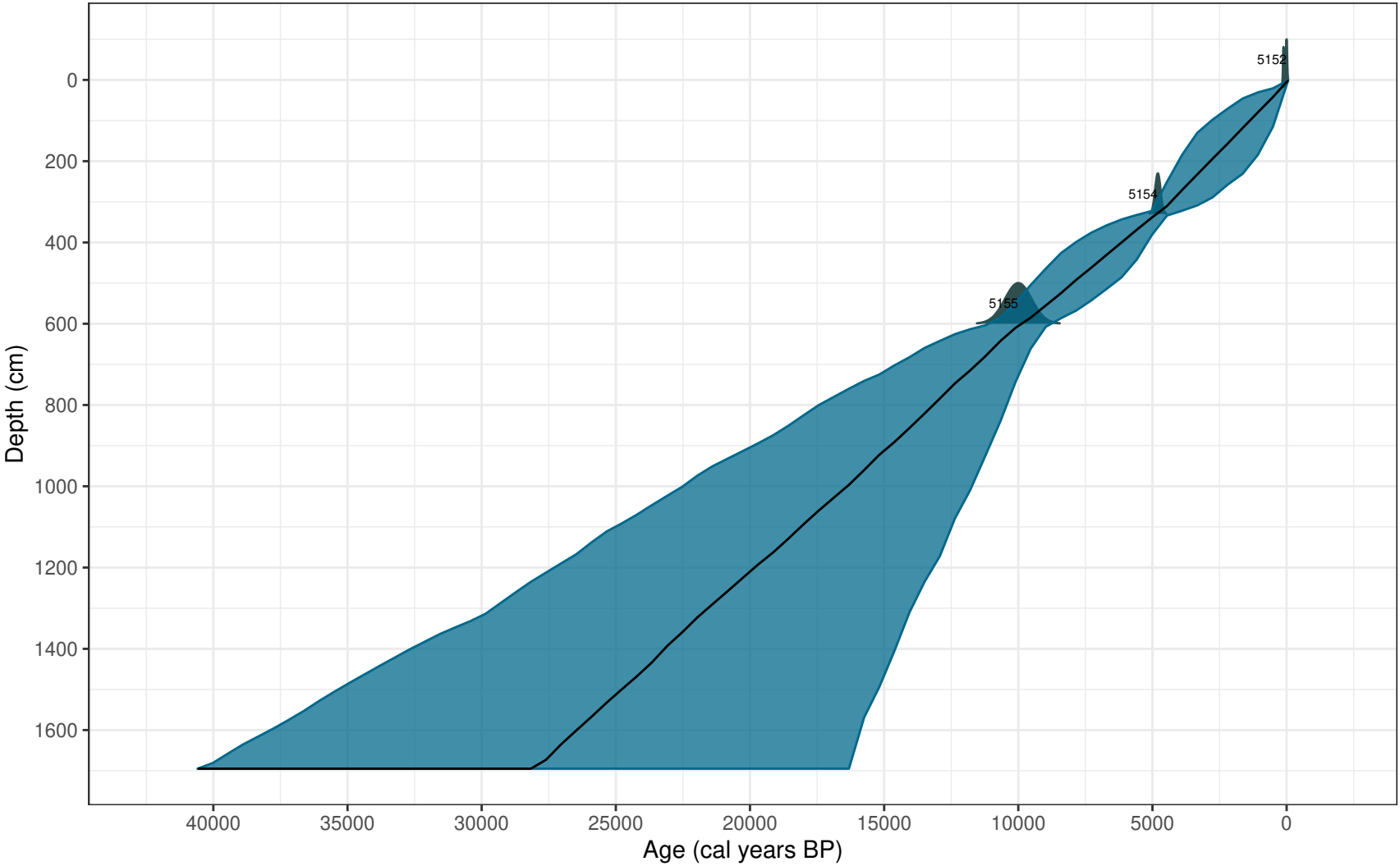

Lake Ontario, Mississauga Basin; Dataset ID 1834

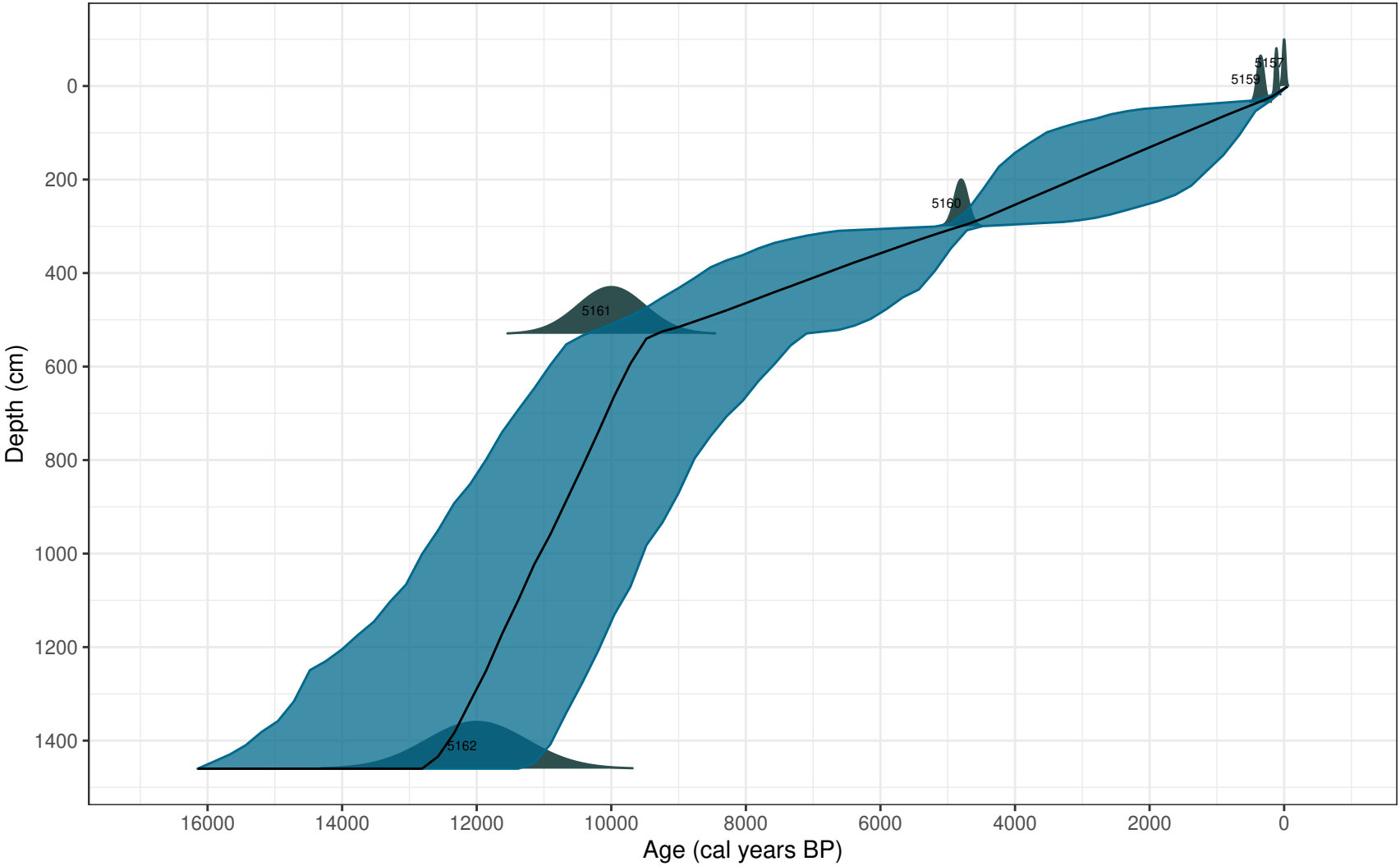

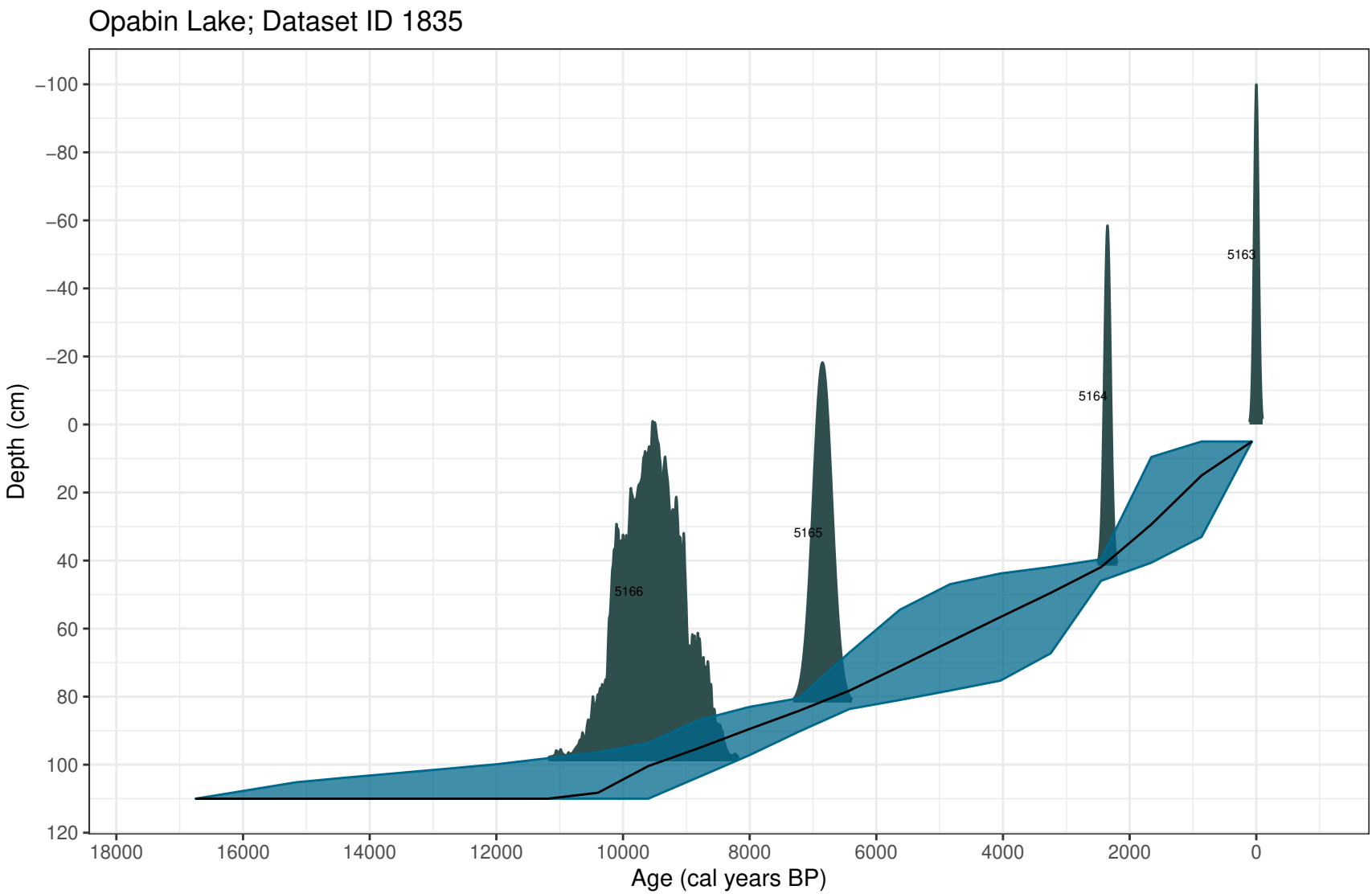
Opabin Lake; Dataset ID 1835
Depth (cm)
−100
−80
−60
−40
−20
0
20
40
60
80
100
120
18000
16000
14000
12000
10000
8000
6000
4000
2000
0
Age (cal years BP)
5166
5165
5164
5163

Otto Mielke Lake; Dataset ID 1840

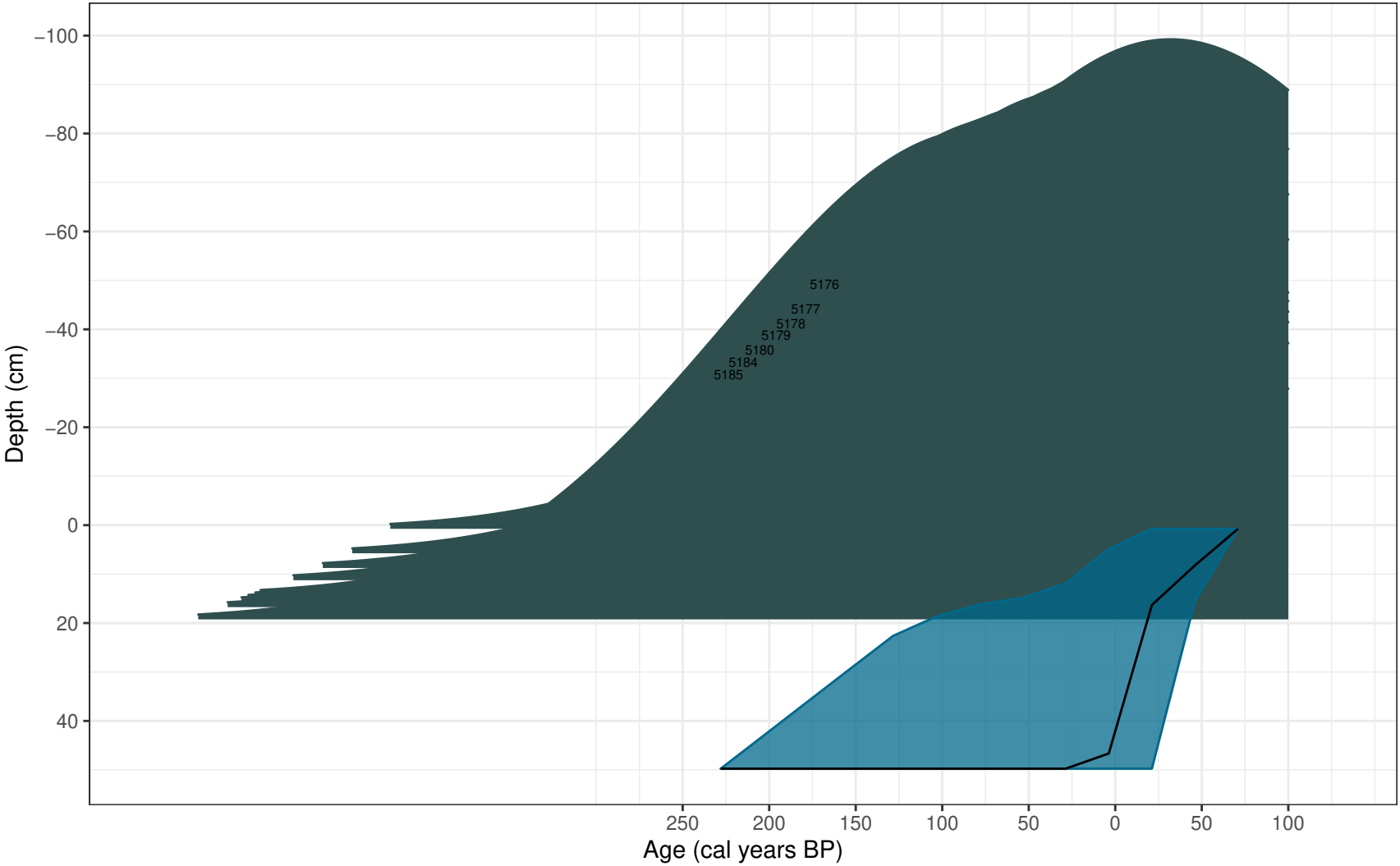

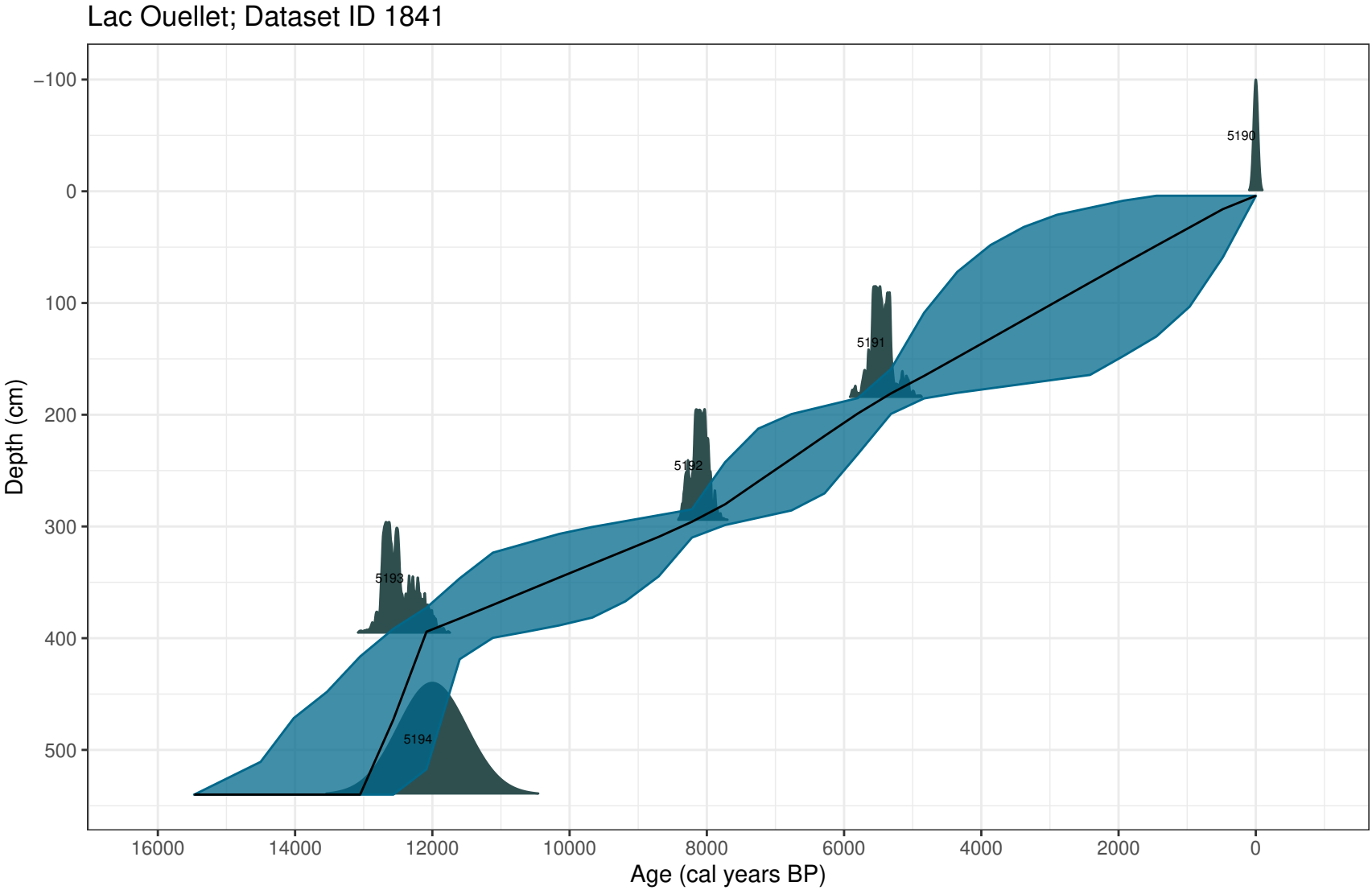
Lac Ouellet; Dataset ID 1841
Depth (cm)
−100
0
100
200
300
400
500
5190
5191
5192
5193
5194
16000
14000
12000
10000
8000
6000
4000
2000
0
Age (cal years BP)

Palace Pier Section; Dataset ID 1847

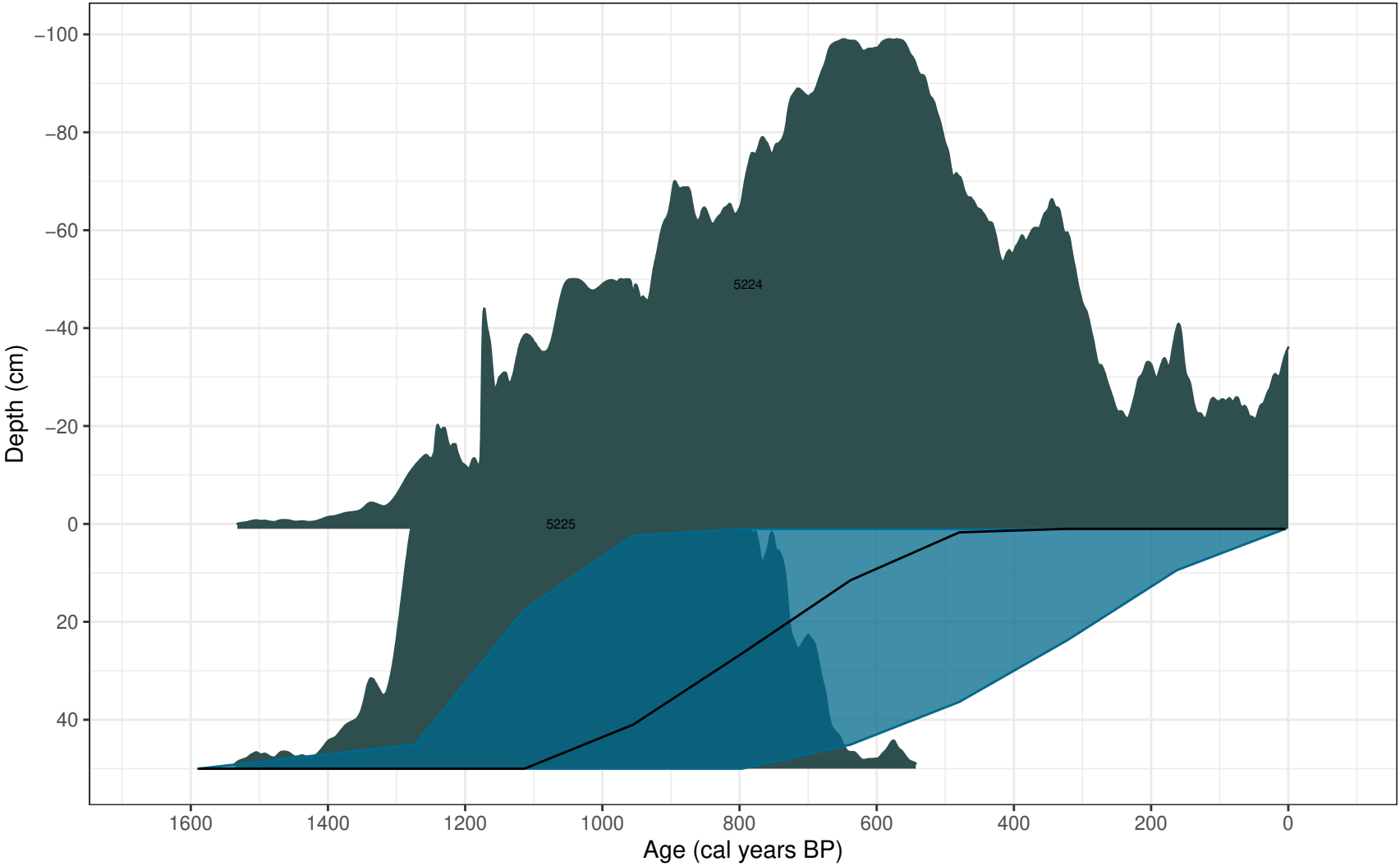

Panther Run Pond; Dataset ID 1848

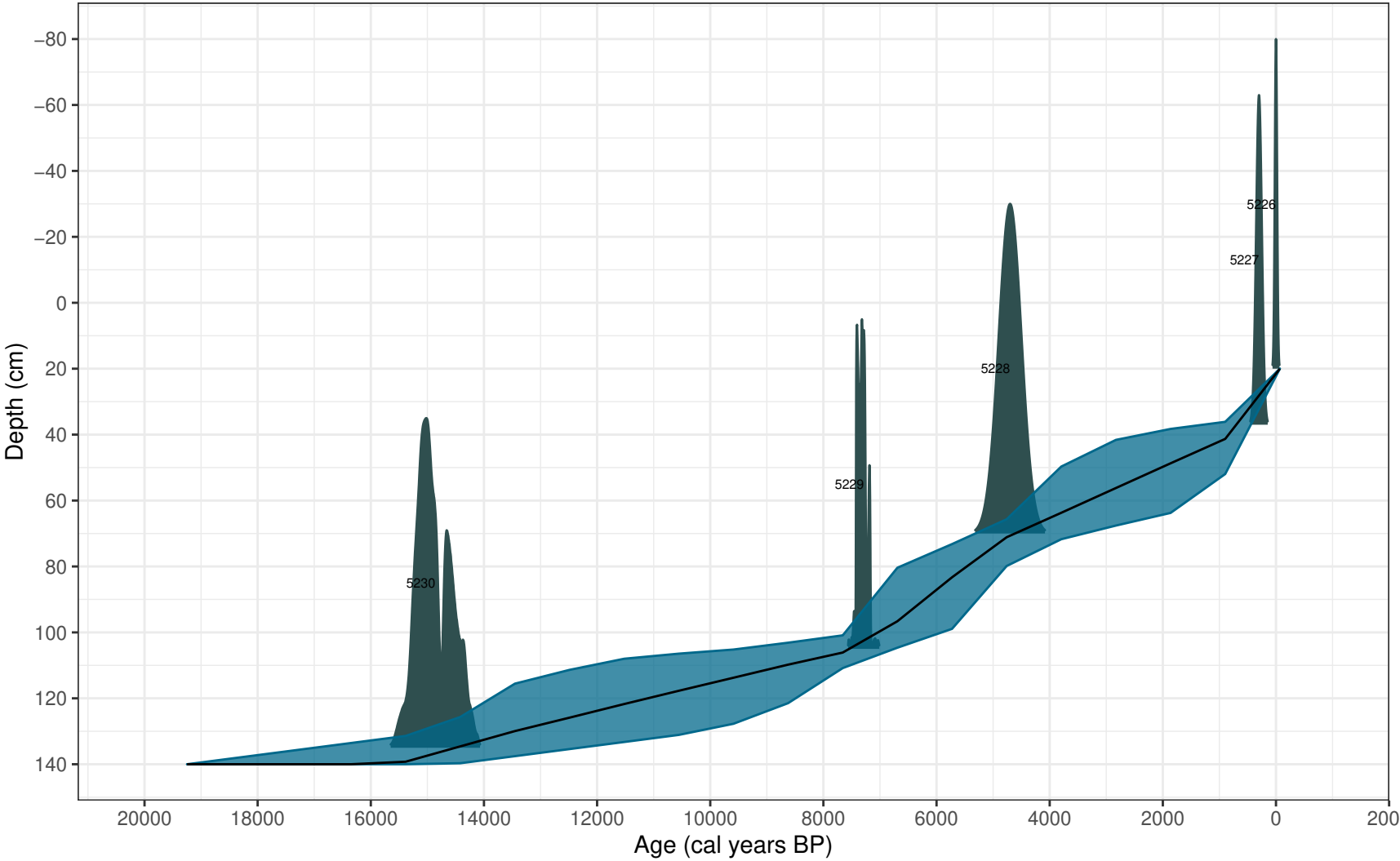

Paradise Lake; Dataset ID 1849

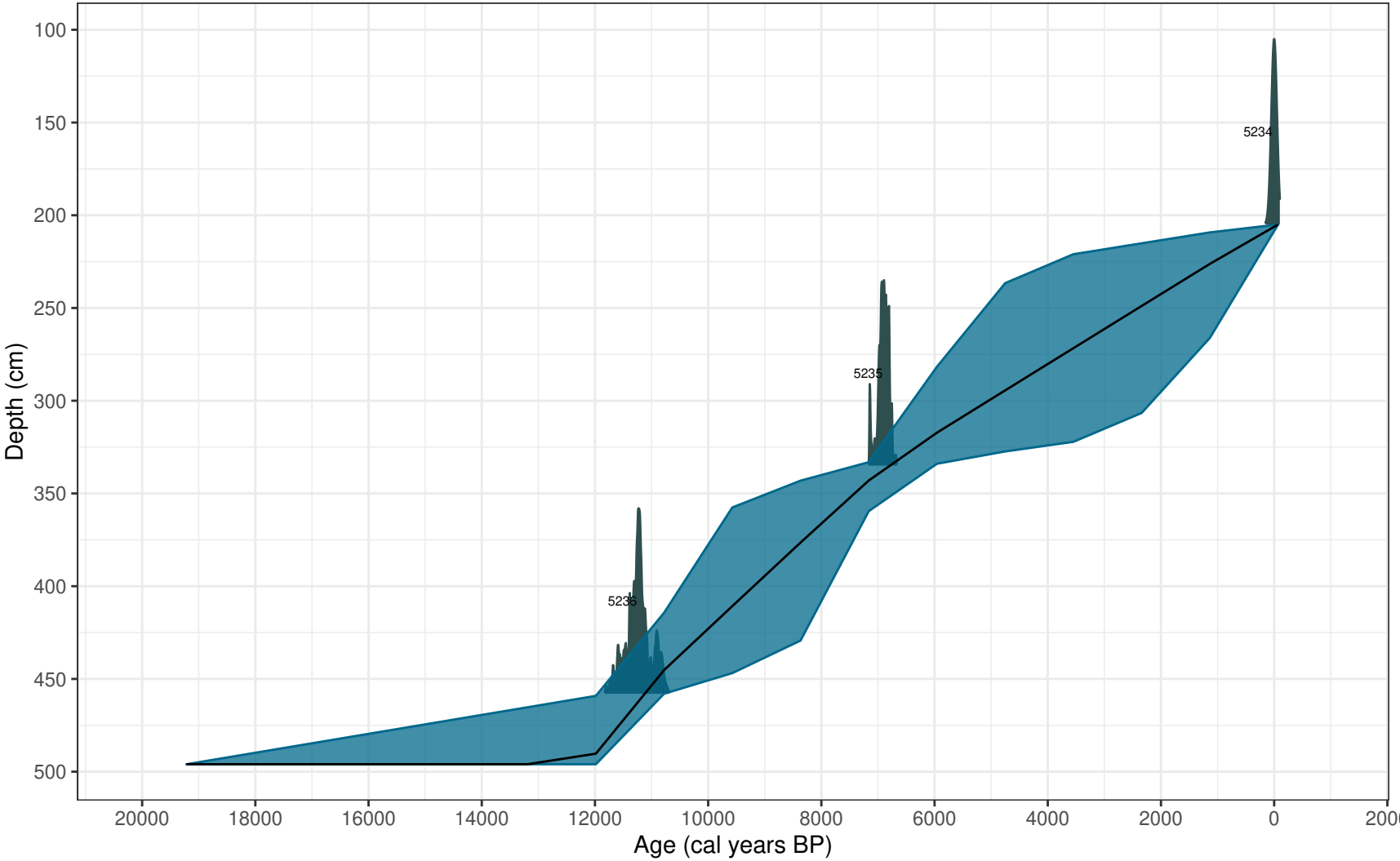

Park Pond 1; Dataset ID 1852

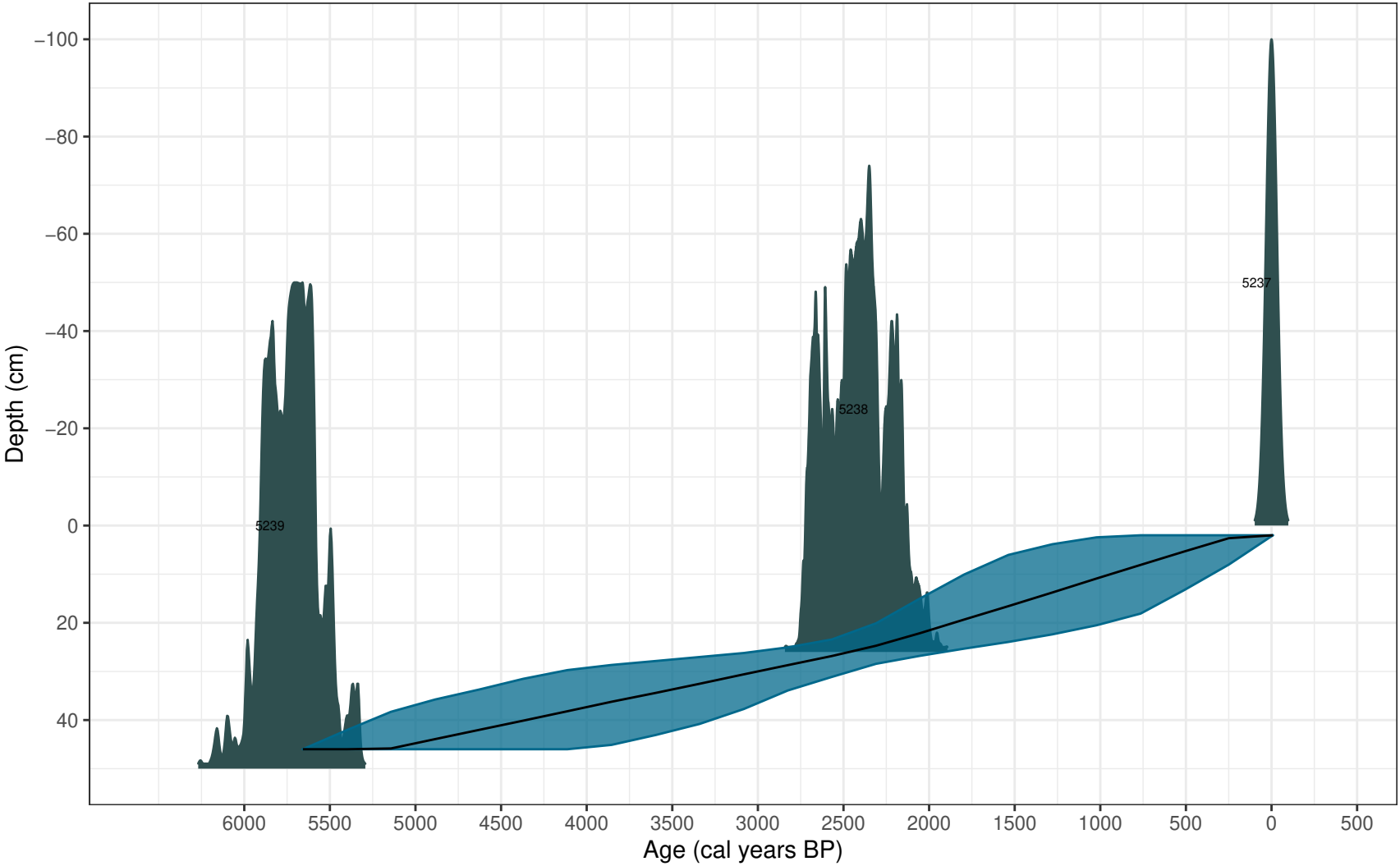

Park Pond 2; Dataset ID 1854

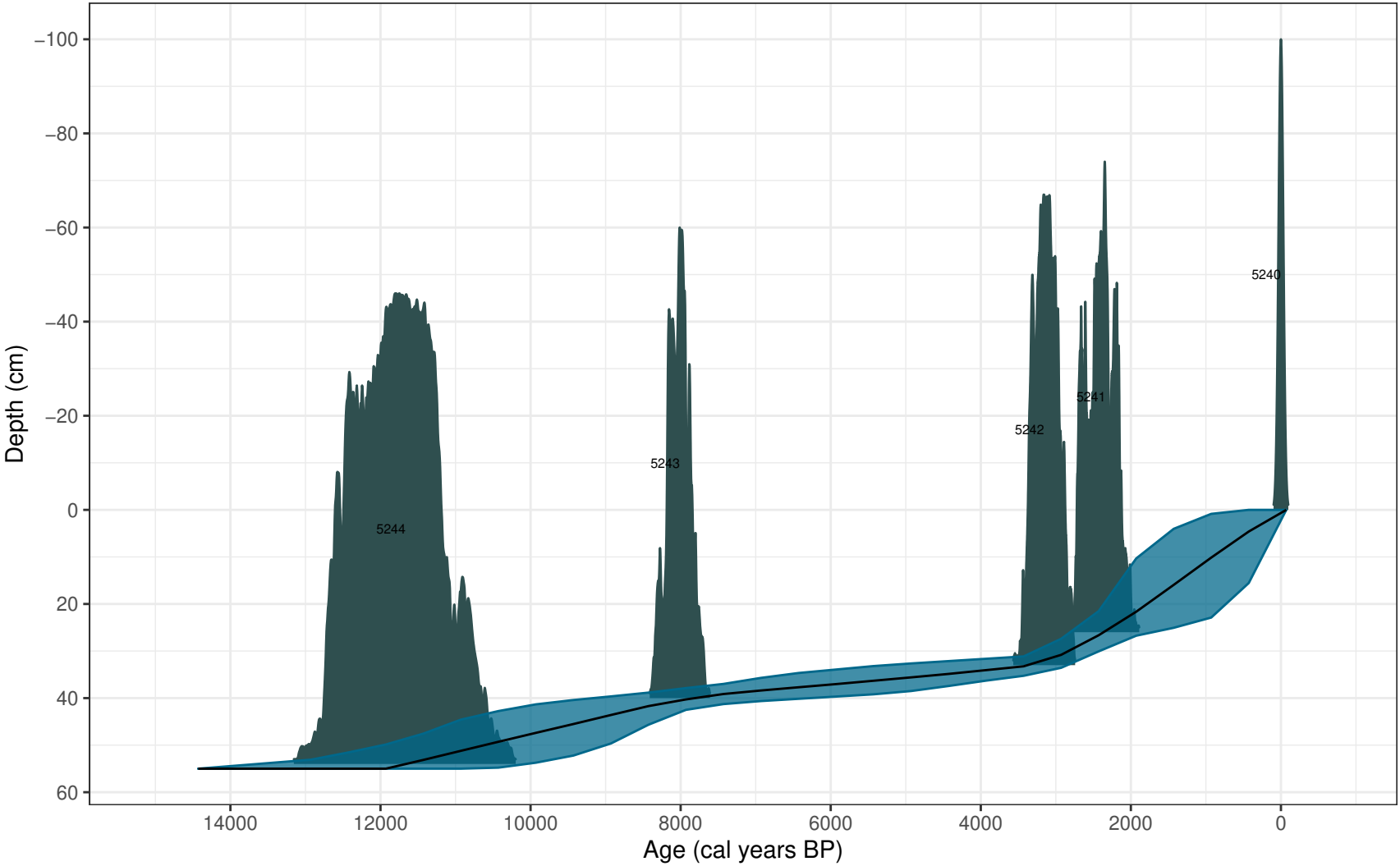

Park Pond 3; Dataset ID 1856

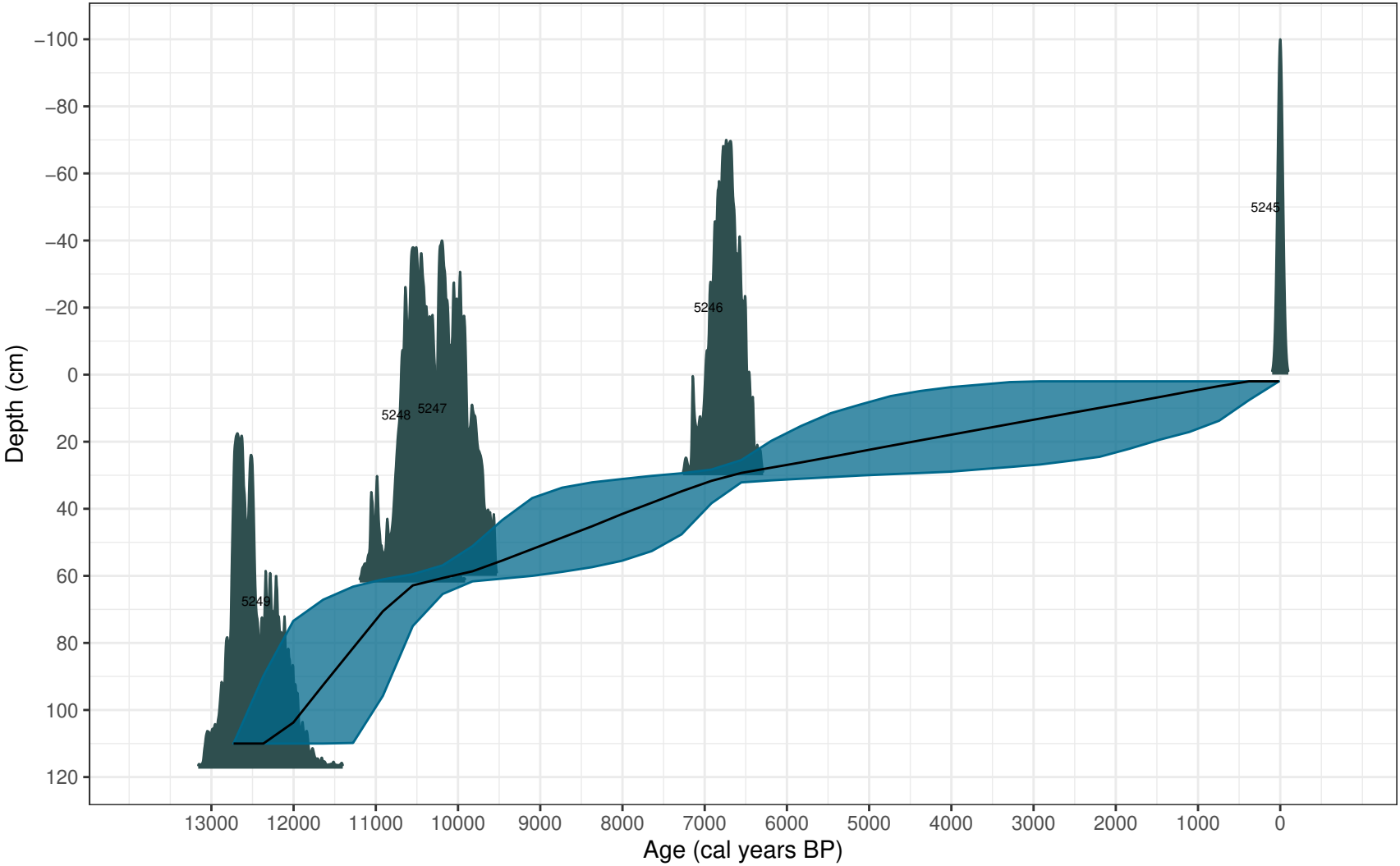

Parkhill Creek; Dataset ID 1857

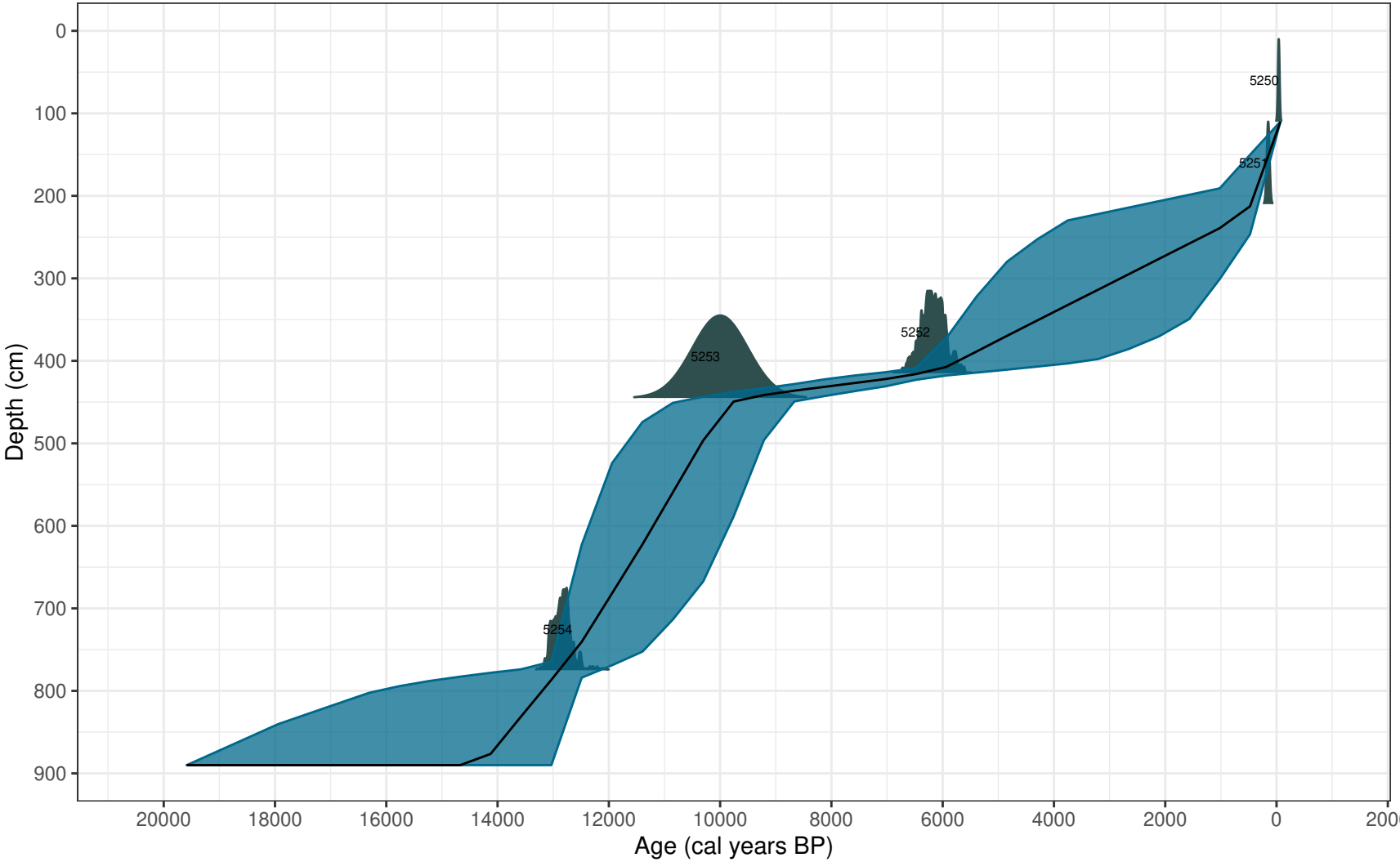

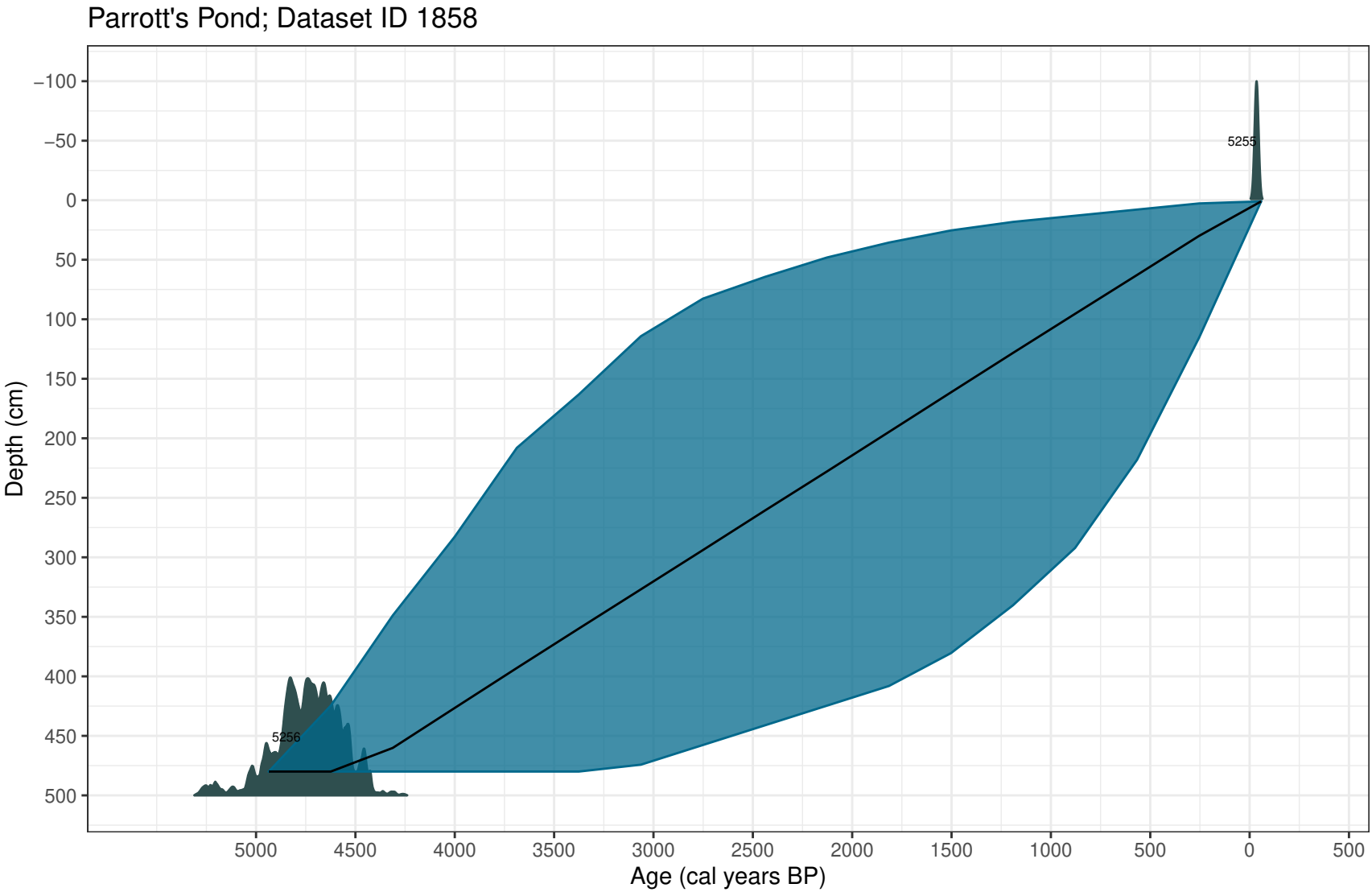
Parrott's Pond; Dataset ID 1858
Depth (cm)
−100
−50
0
50
100
150
200
250
300
350
400
450
500
5255
5256
5000
4500
4000
3500
3000
2500
2000
1500
1000
500
0
500
Age (cal years BP)

Pasacaco Pond; Dataset ID 1859

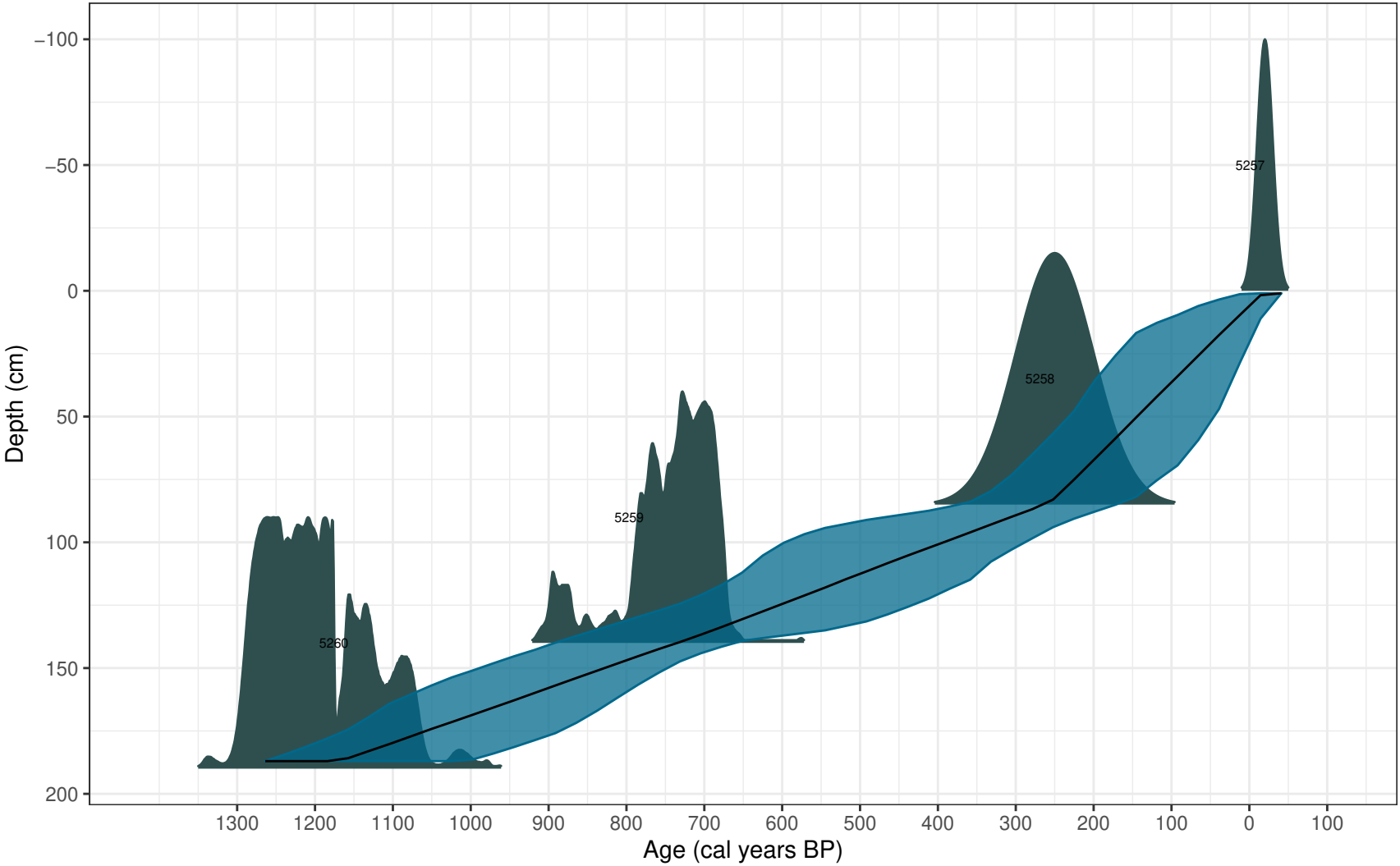

Pasqua Lake; Dataset ID 1861

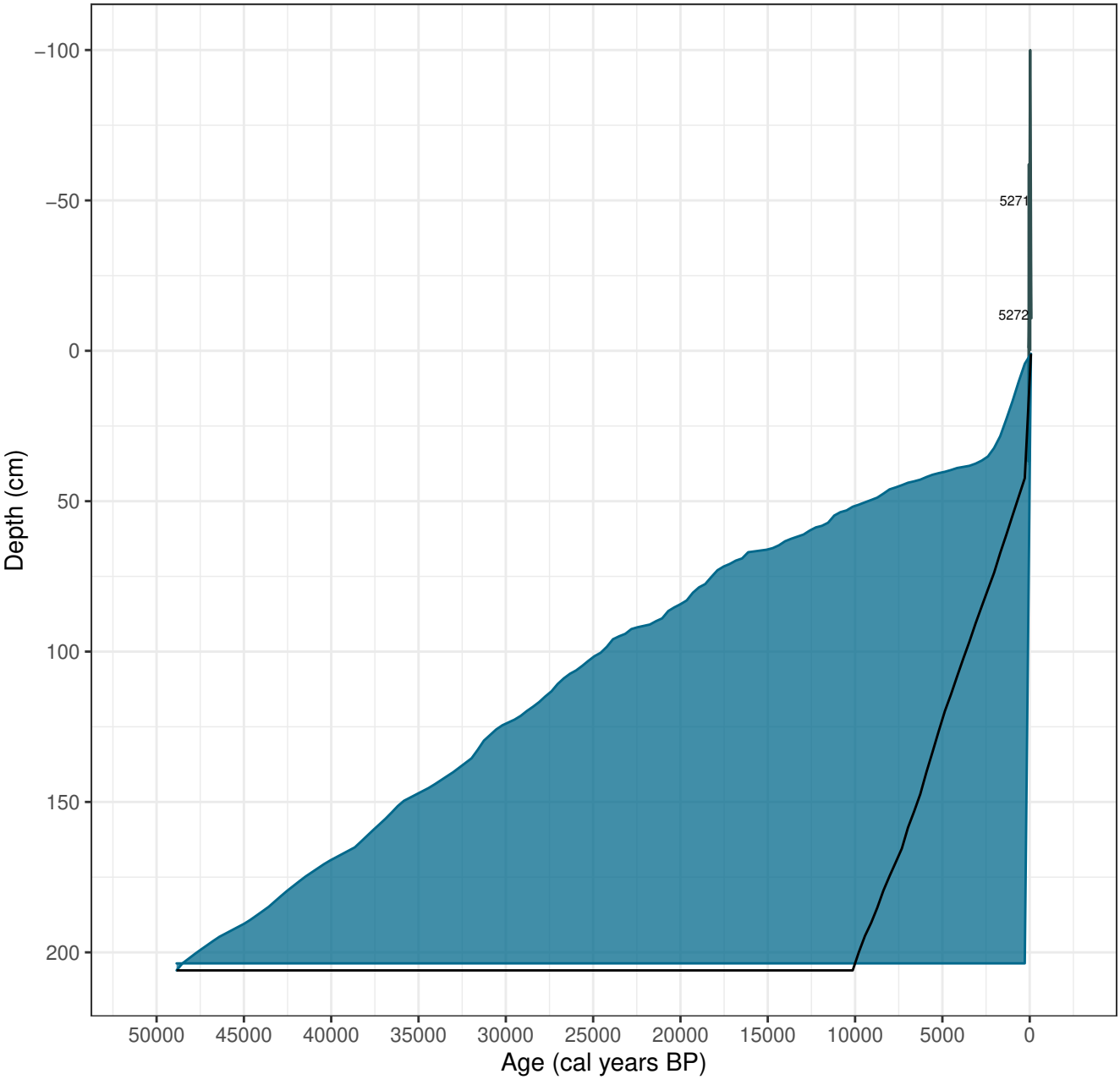

Pass Lake; Dataset ID 1862

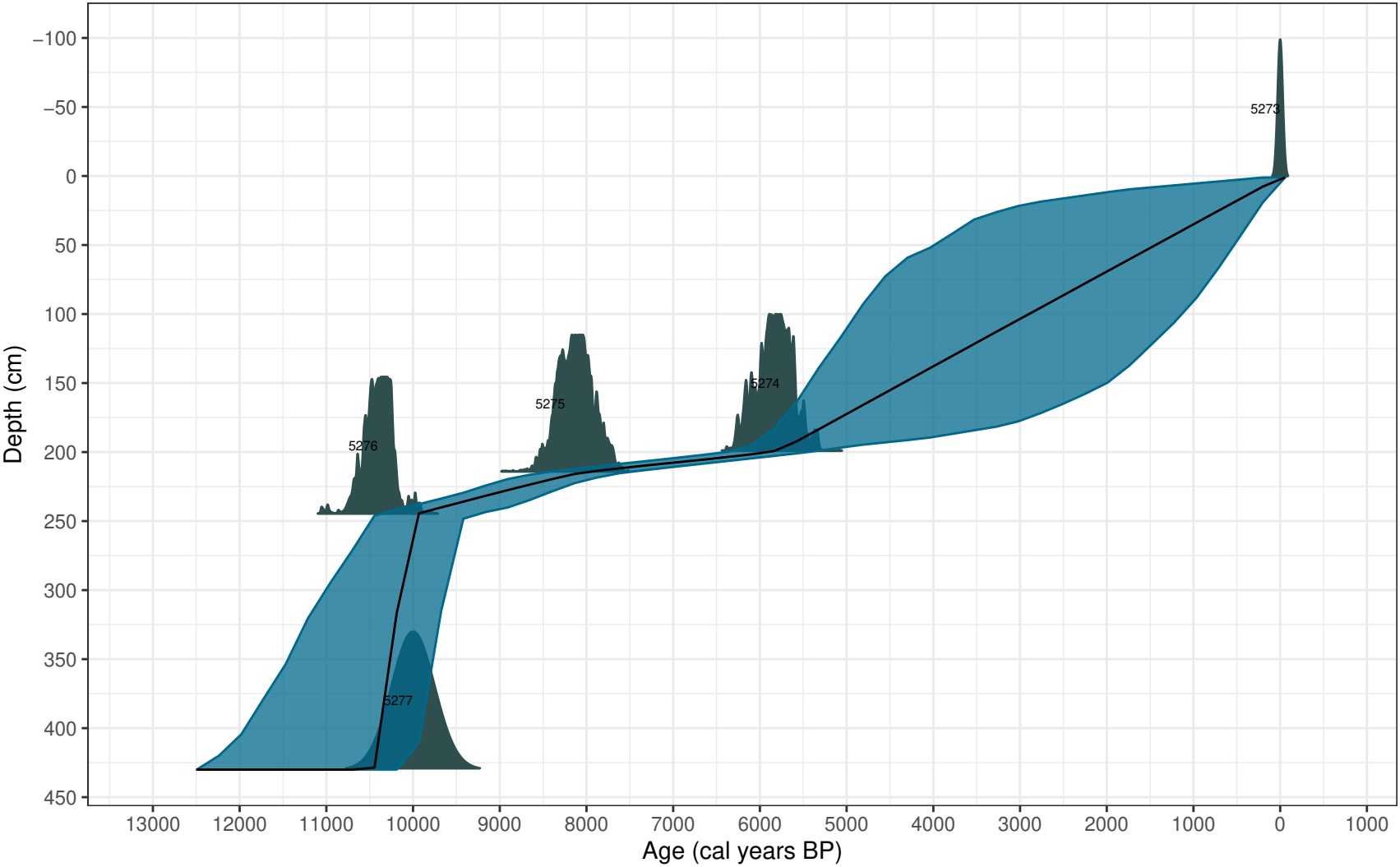

Lac Patricia; Dataset ID 1864

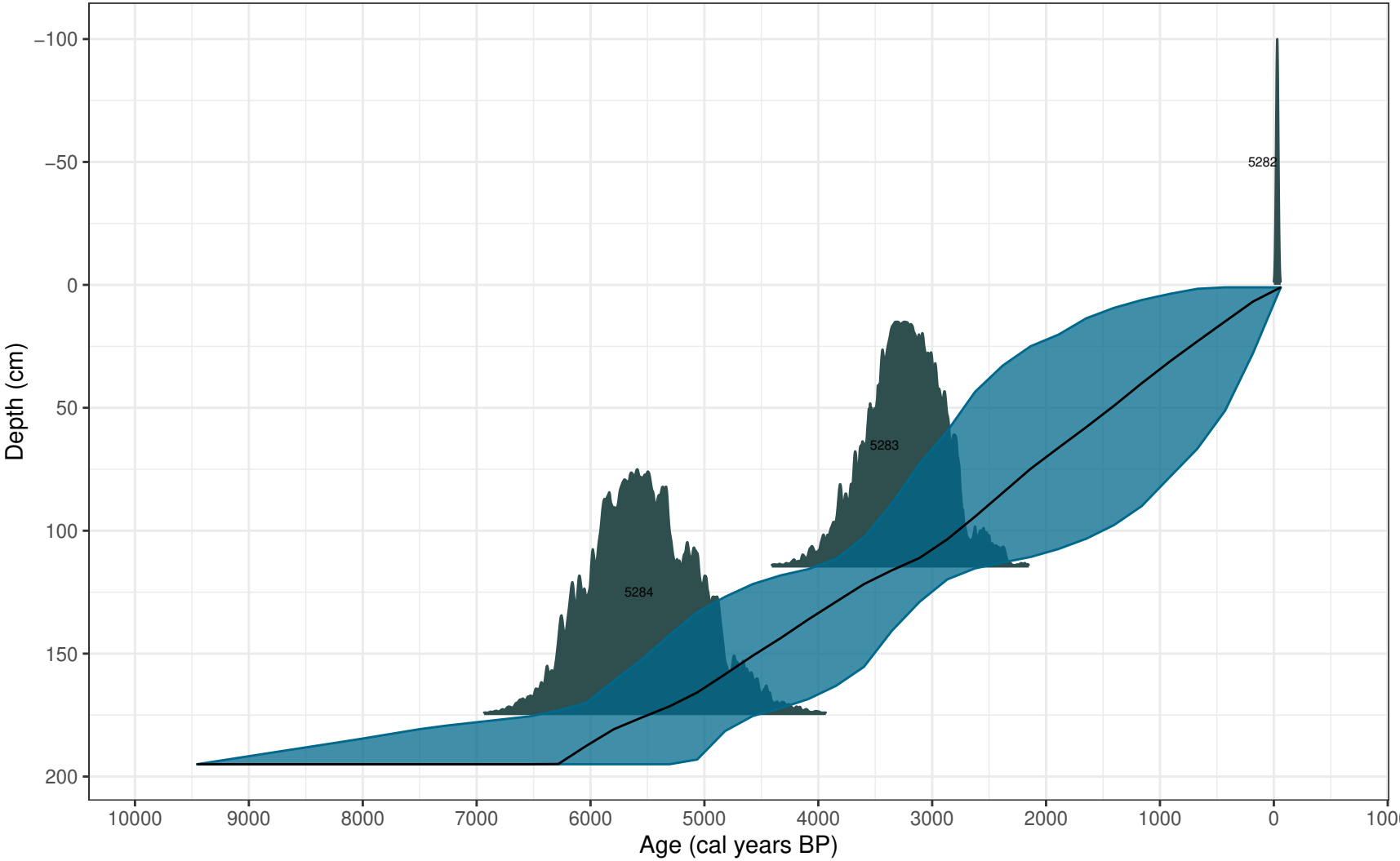

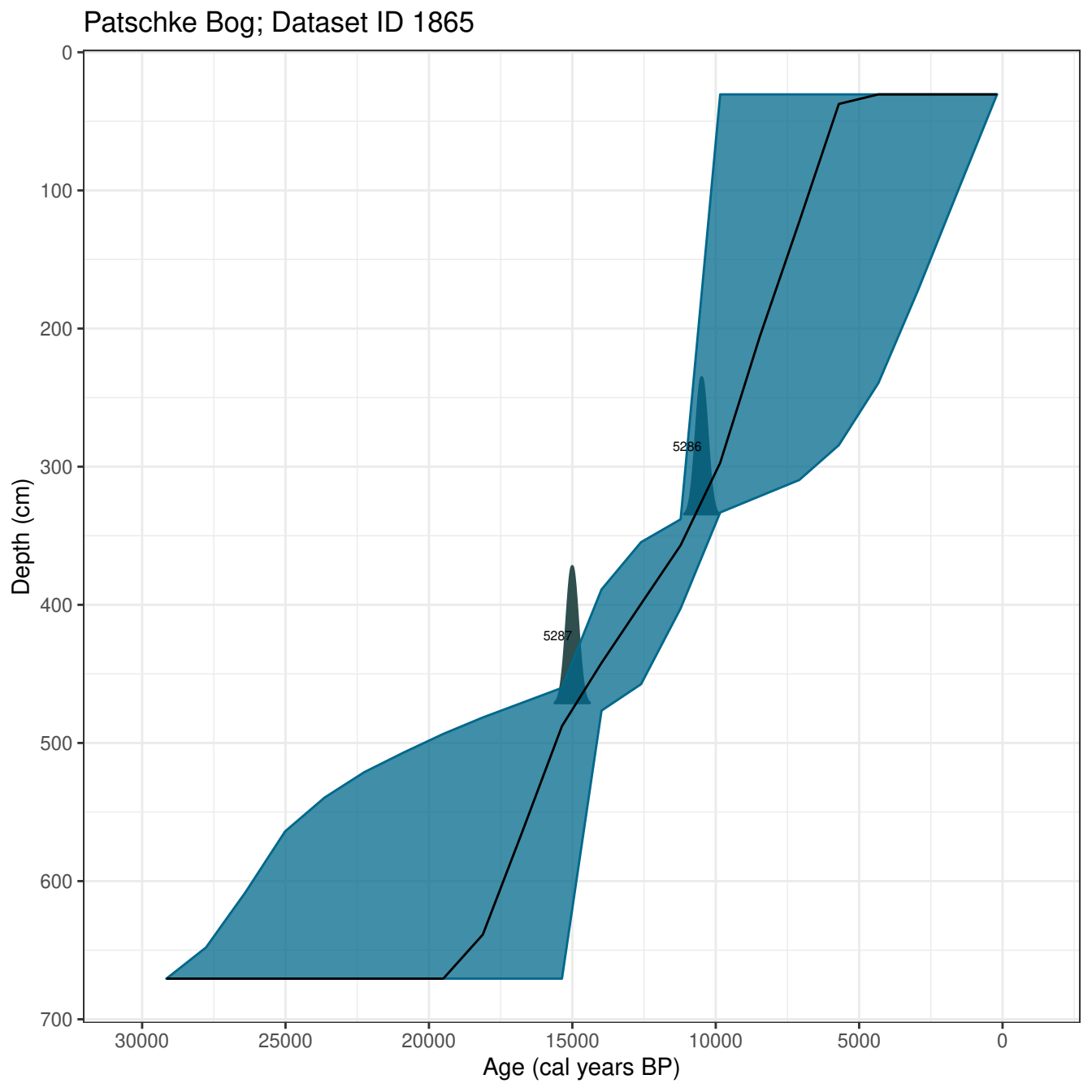
Patschke Bog; Dataset ID 1865
Depth (cm)
0
100
200
300
400
500
600
700
5286
5287
30000
25000
20000
15000
10000
5000
0
Age (cal years BP)

Paynter Marsh; Dataset ID 1868

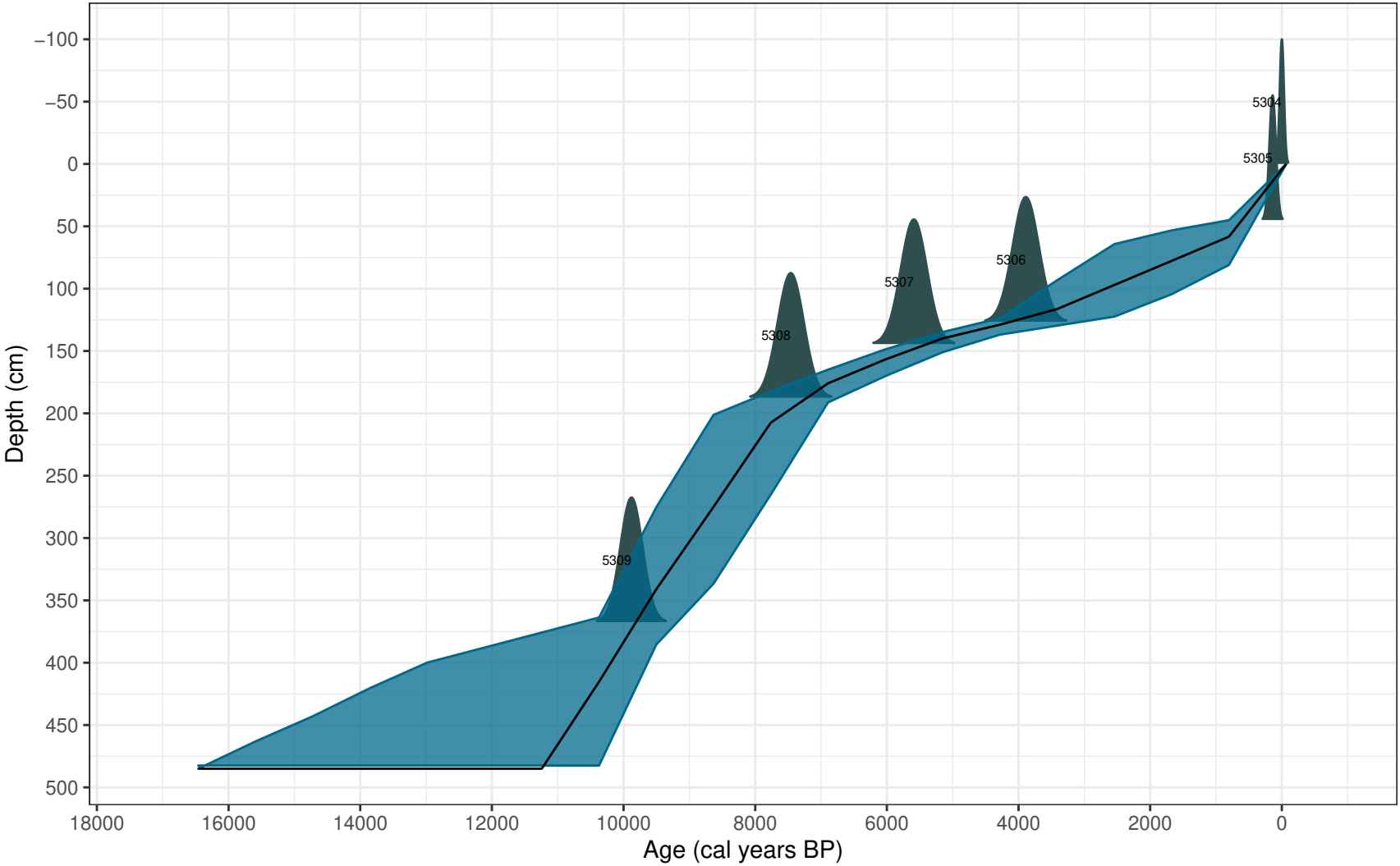

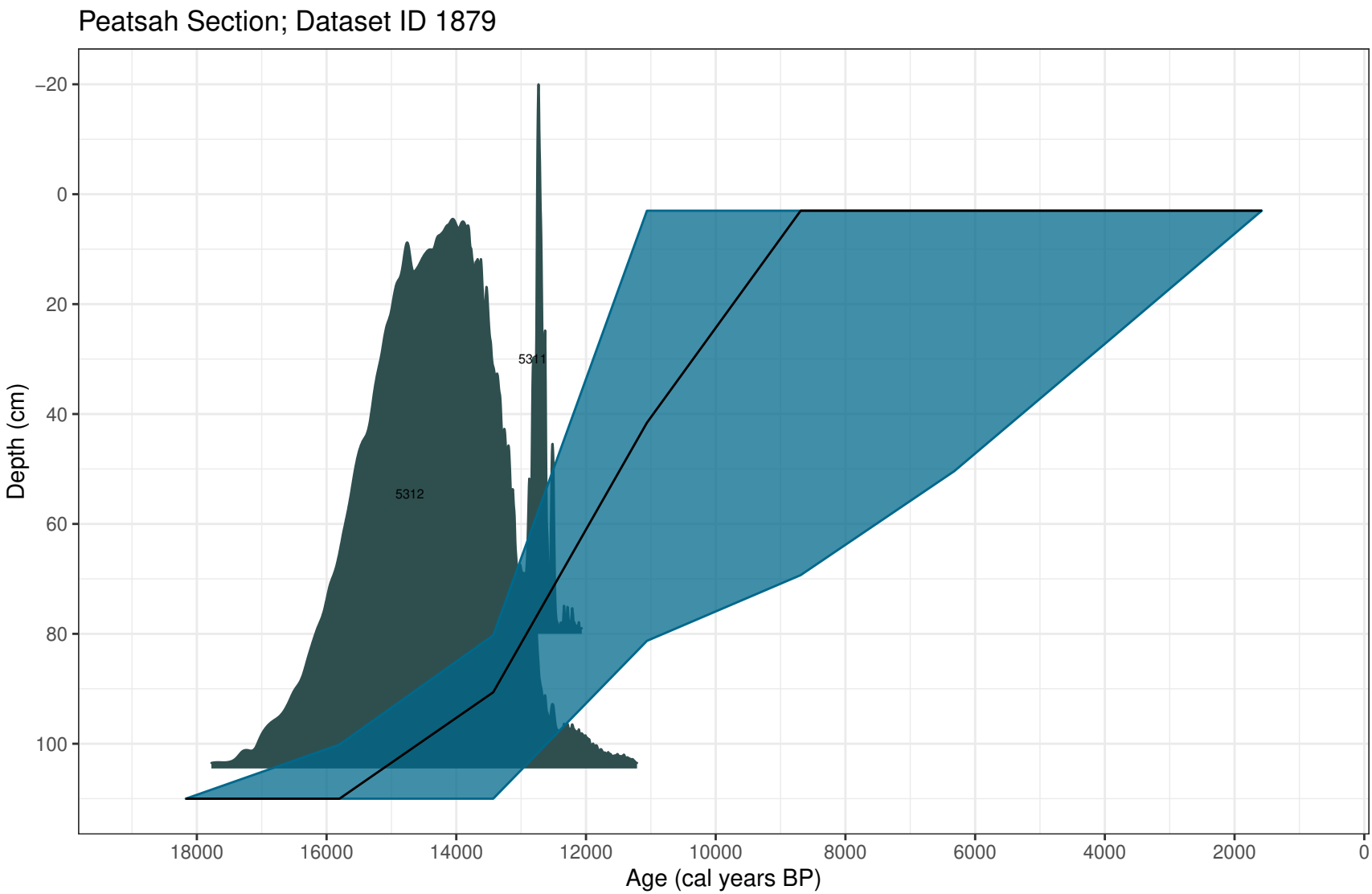
Peatsah Section; Dataset ID 1879
Depth (cm)
−20
0
20
40
60
80
100
5311
5312
18000
16000
14000
12000
10000
8000
6000
4000
2000
0
Age (cal years BP)

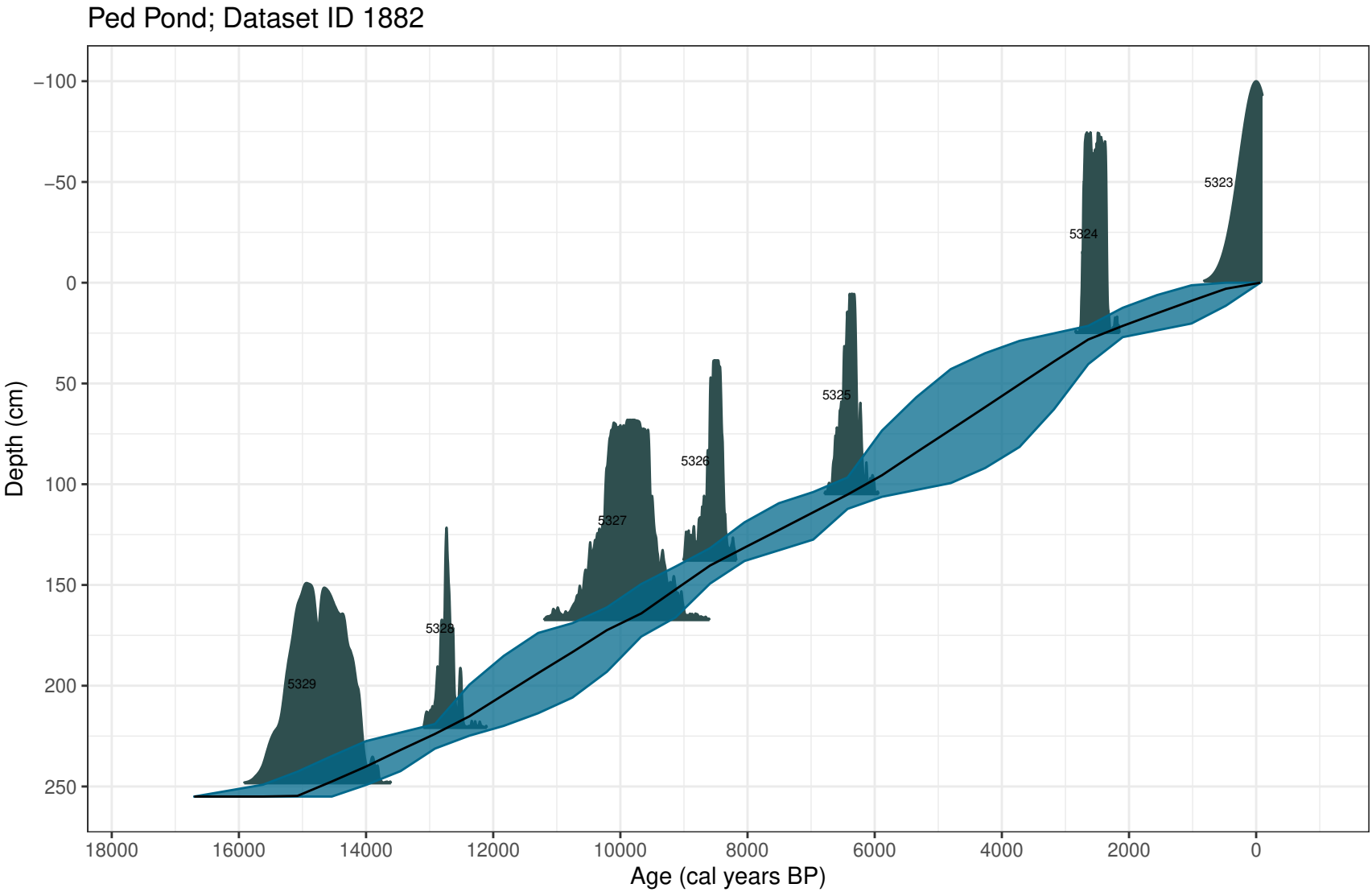
Ped Pond; Dataset ID 1882
Depth (cm)
−100
−50
0
50
100
150
200
250
Age (cal years BP)
18000
16000
14000
12000
10000
8000
6000
4000
2000
0
5329
5328
5327
5326
5325
5324
5323

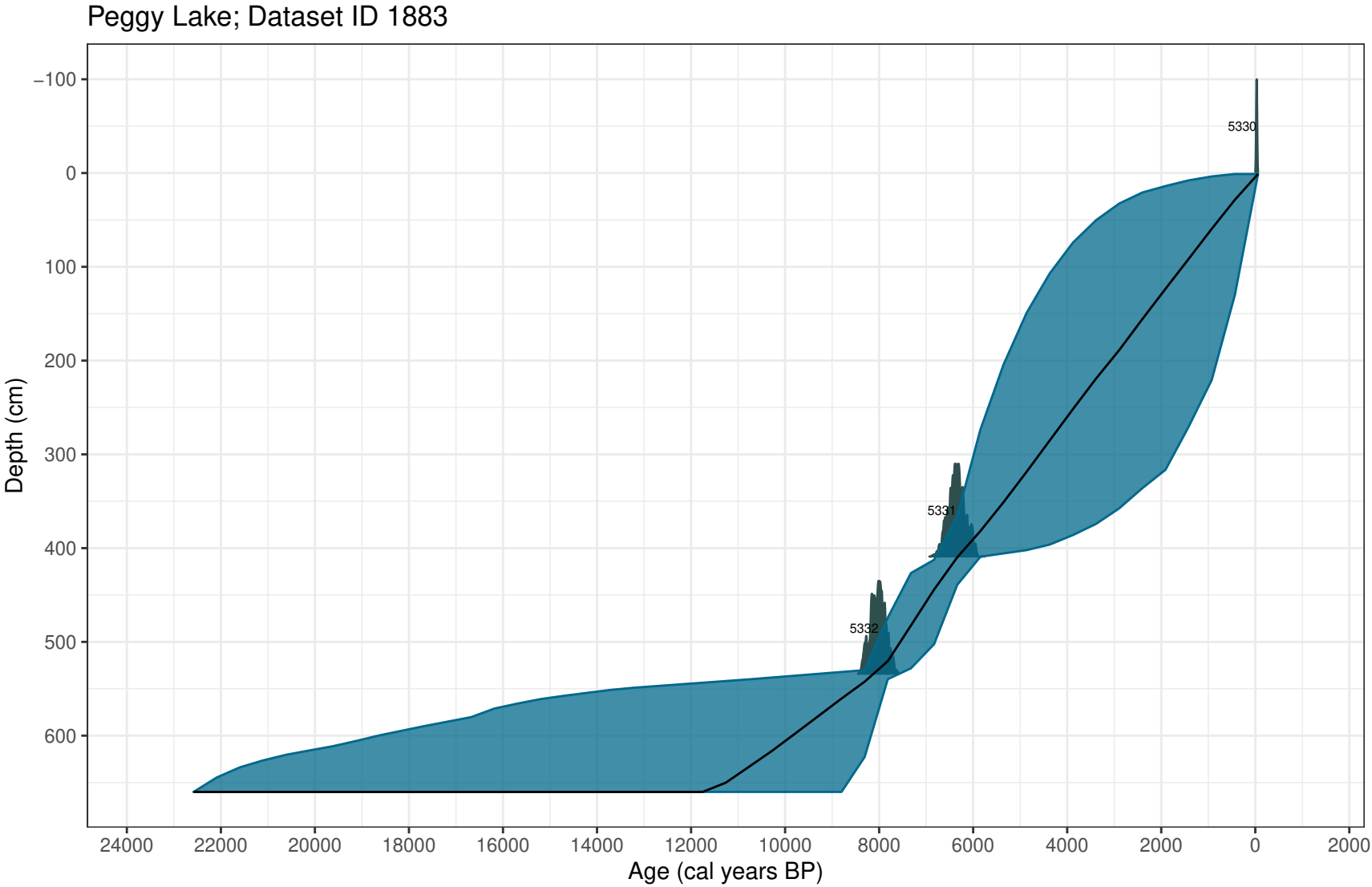
Peggy Lake; Dataset ID 1883
Depth (cm)
−100
0
100
200
300
400
500
600
5330
5331
5332
24000
22000
20000
18000
16000
14000
12000
10000
8000
6000
4000
2000
0
2000
Age (cal years BP)

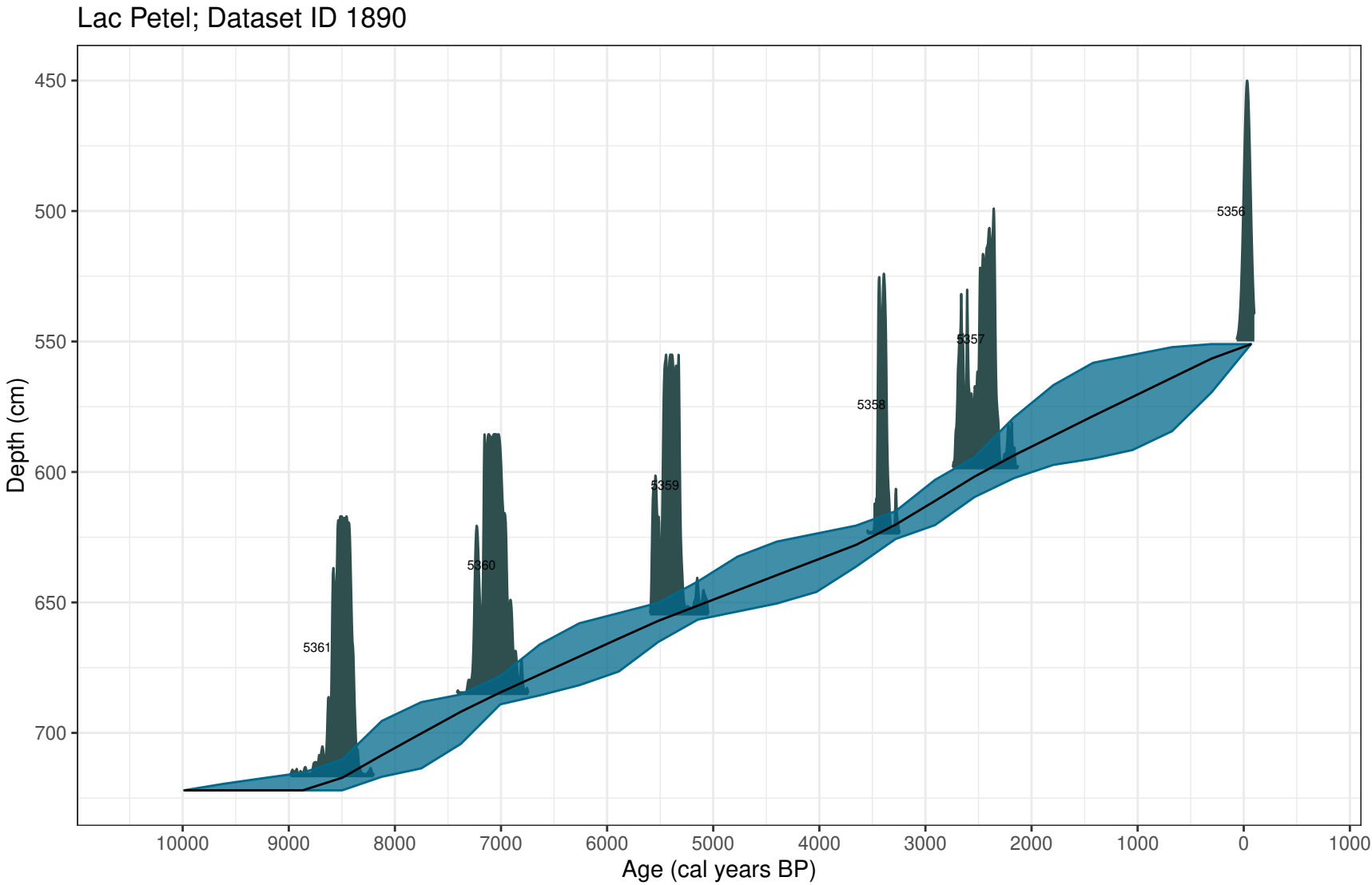
Lac Petel; Dataset ID 1890
Depth (cm)
450
500
550
600
650
700
5356
5357
5358
5359
5360
5361
10000
9000
8000
7000
6000
5000
4000
3000
2000
1000
0
1000
Age (cal years BP)

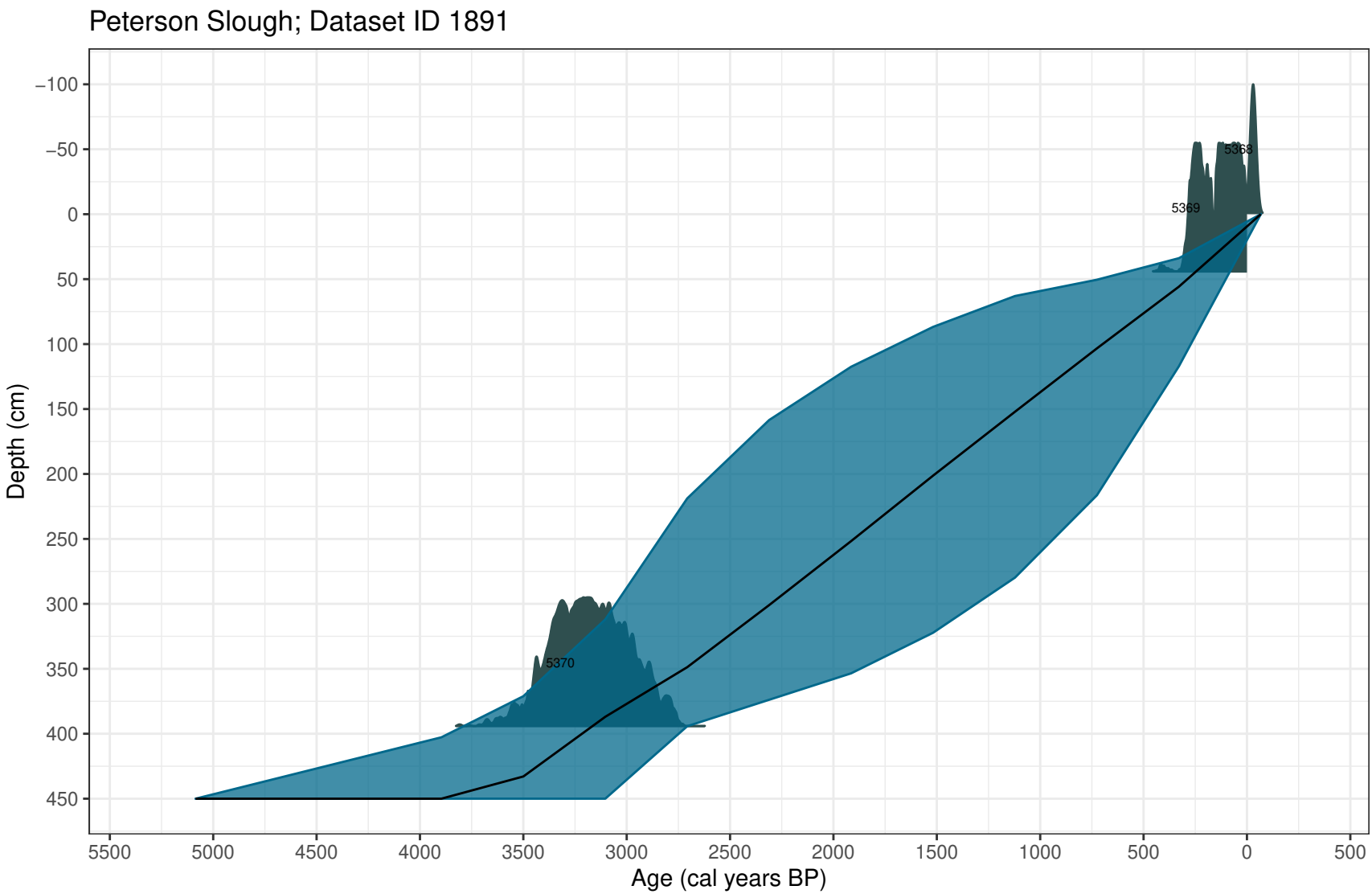
Peterson Slough; Dataset ID 1891
Depth (cm)
−100
−50
0
50
100
150
200
250
300
350
400
450
5368
5369
5370
5500
5000
4500
4000
3500
3000
2500
2000
1500
1000
500
0
500
Age (cal years BP)

Pilot Mound Site; Dataset ID 1897

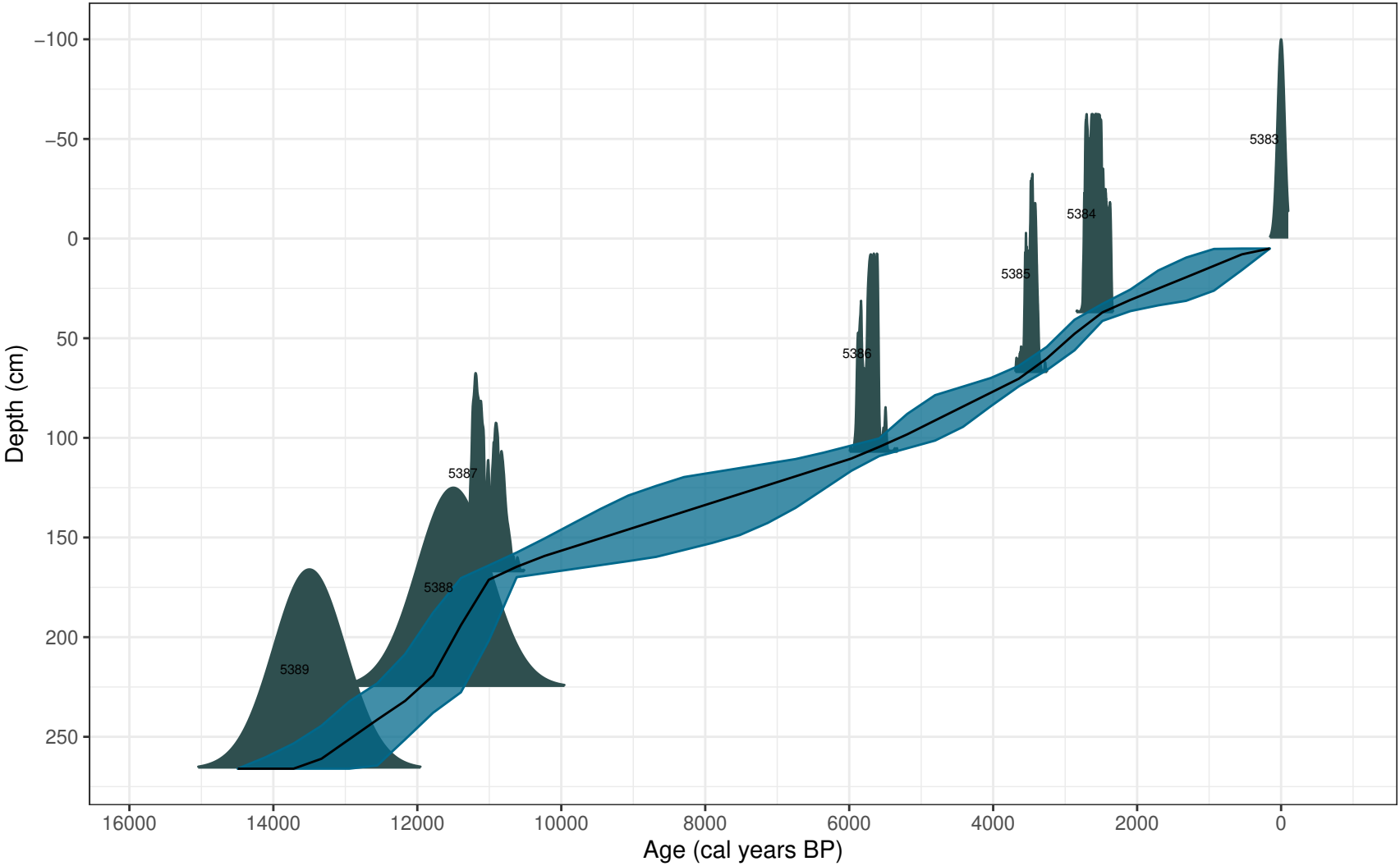

Pinecrest Lake; Dataset ID 1902

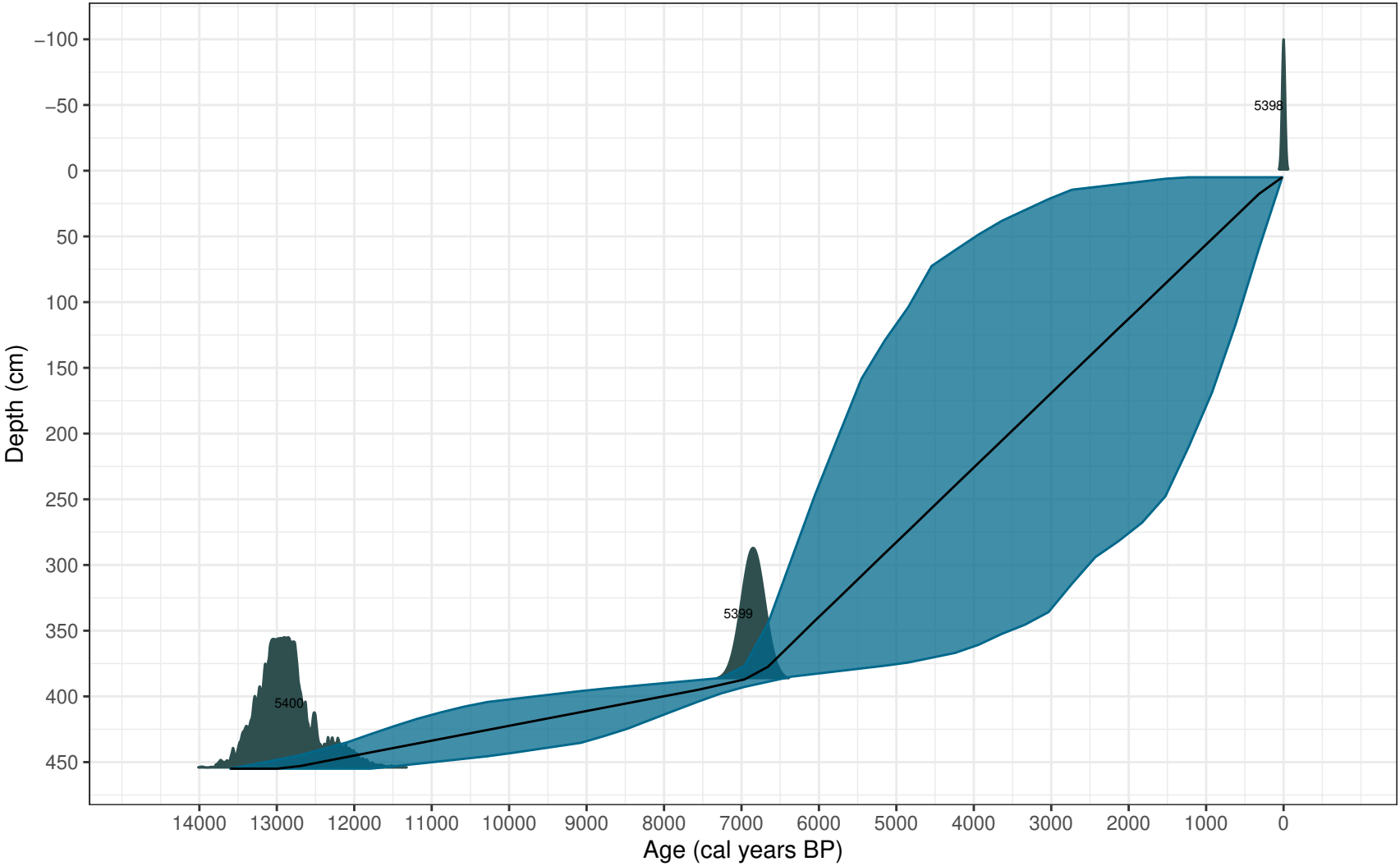

Pink Lake; Dataset ID 1904

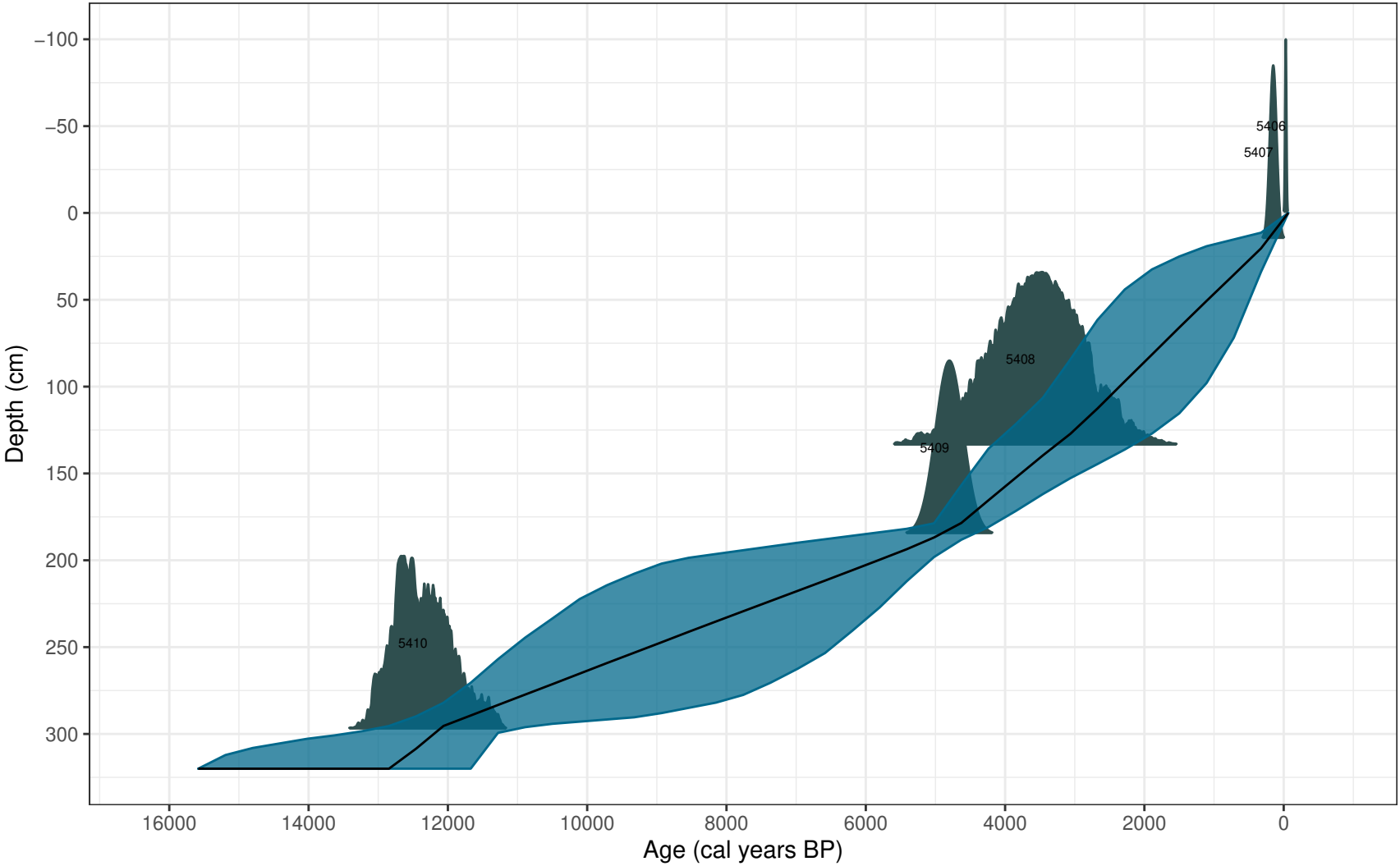

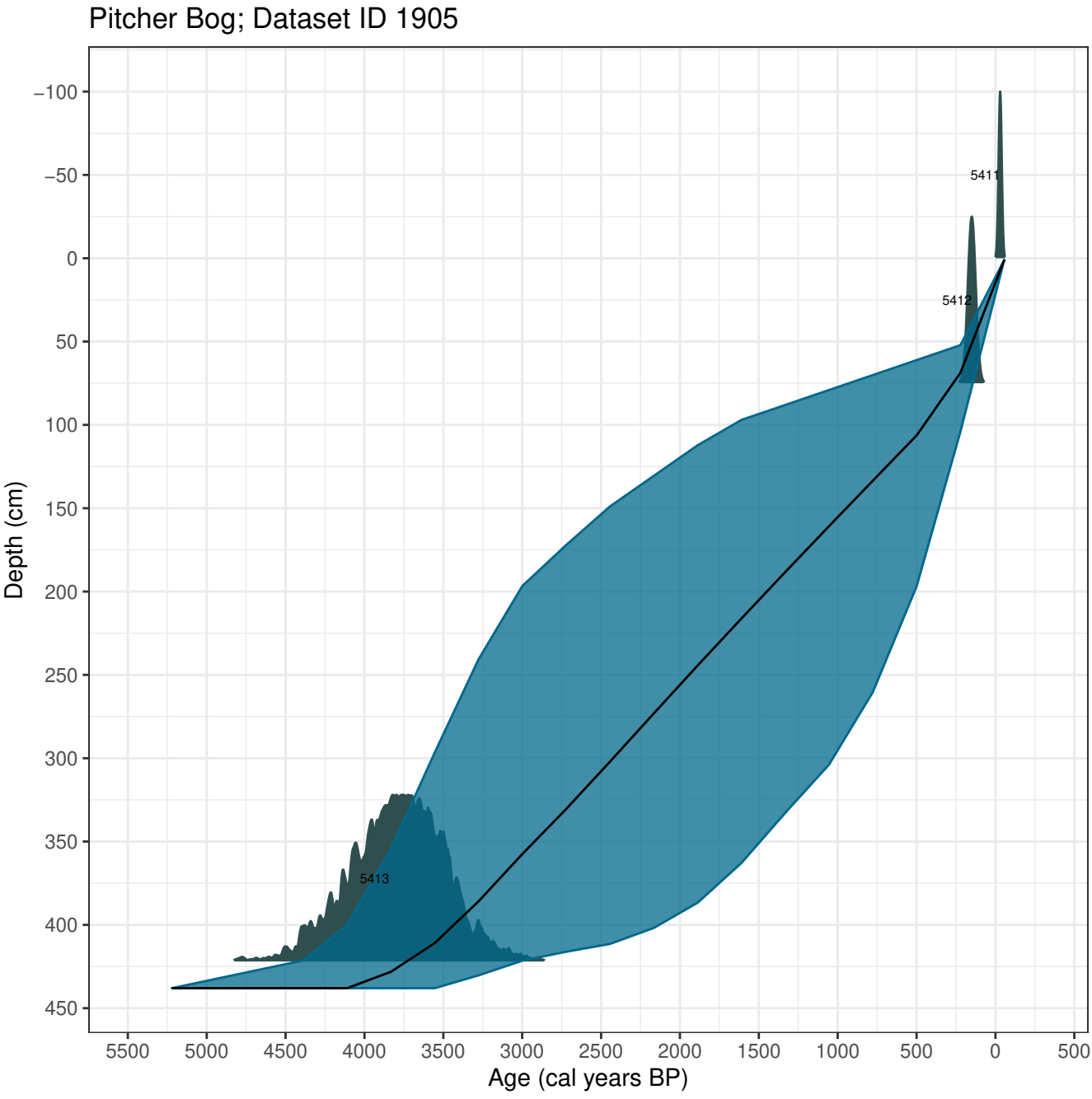
Pitcher Bog; Dataset ID 1905
Depth (cm)
−100
−50
0
50
100
150
200
250
300
350
400
450
5411
5412
5413
5500
5000
4500
4000
3500
3000
2500
2000
1500
1000
500
0
500
Age (cal years BP)

Lac Pluvieux; Dataset ID 1957

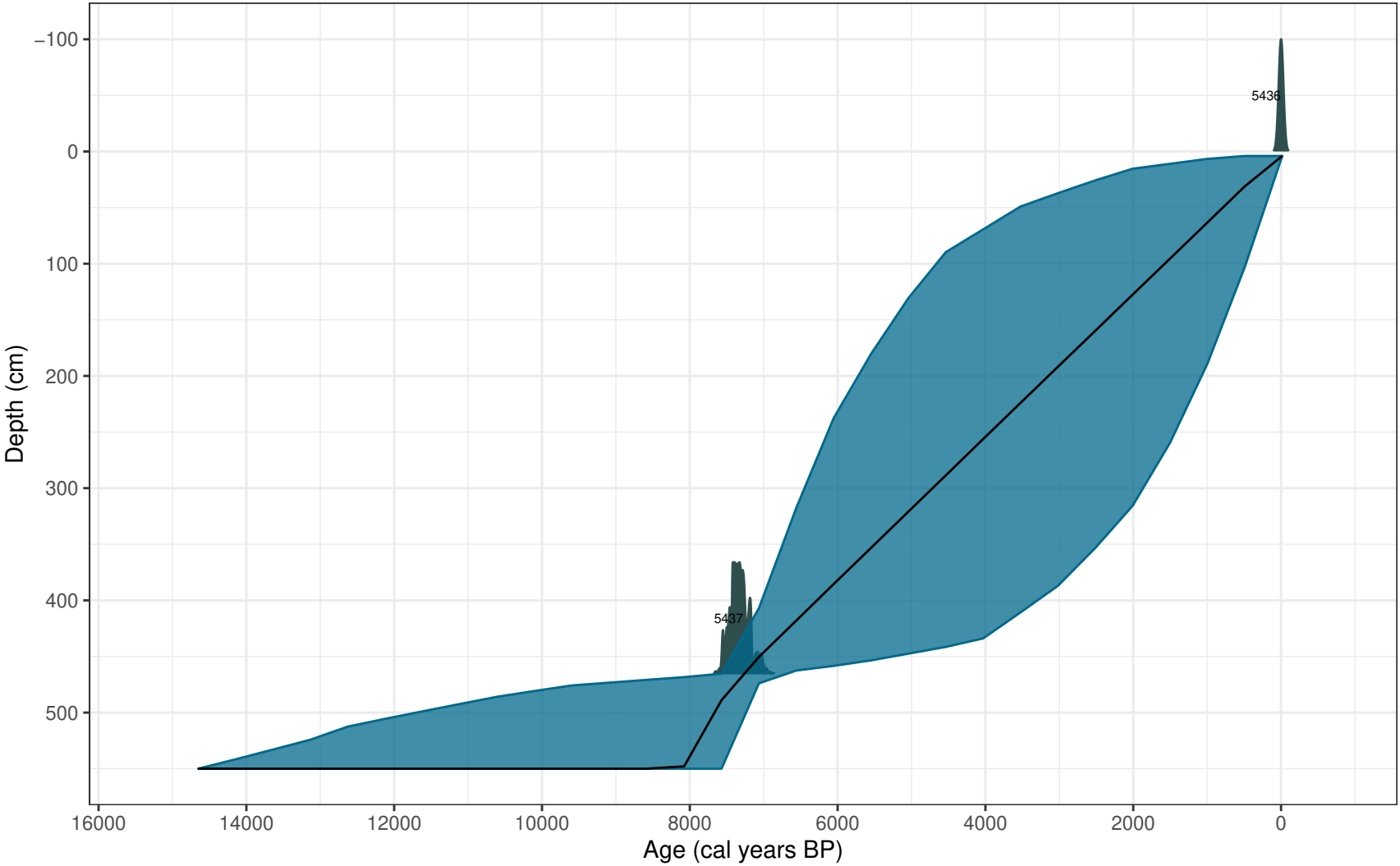

Poland Spring Pond; Dataset ID 1961

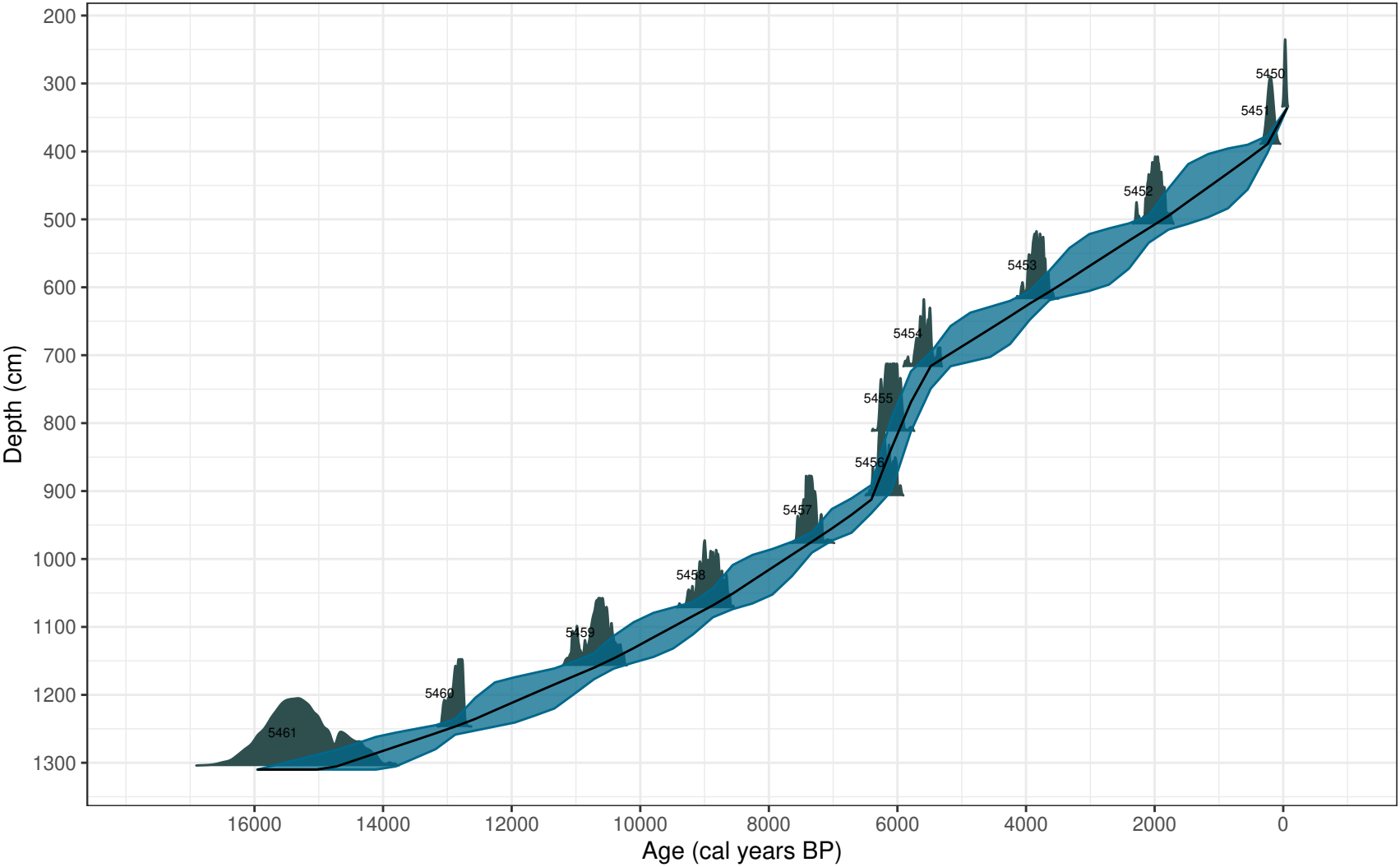

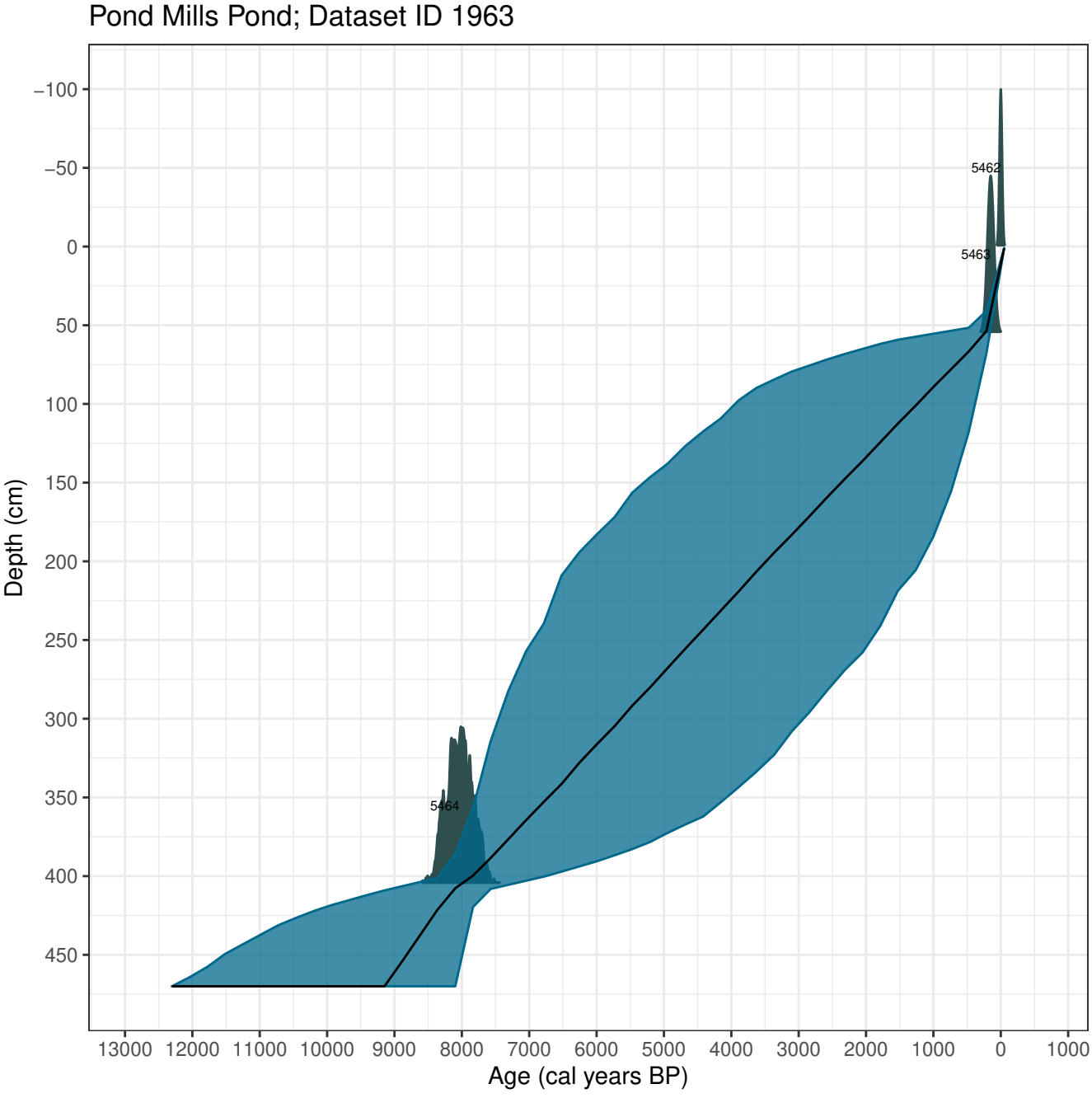
Pond Mills Pond; Dataset ID 1963
Depth (cm)
−100
−50
0
50
100
150
200
250
300
350
400
450
5462
5463
5464
13000
12000
11000
10000
9000
8000
7000
6000
5000
4000
3000
2000
1000
0
1000
Age (cal years BP)

Porphyry Lake; Dataset ID 1964

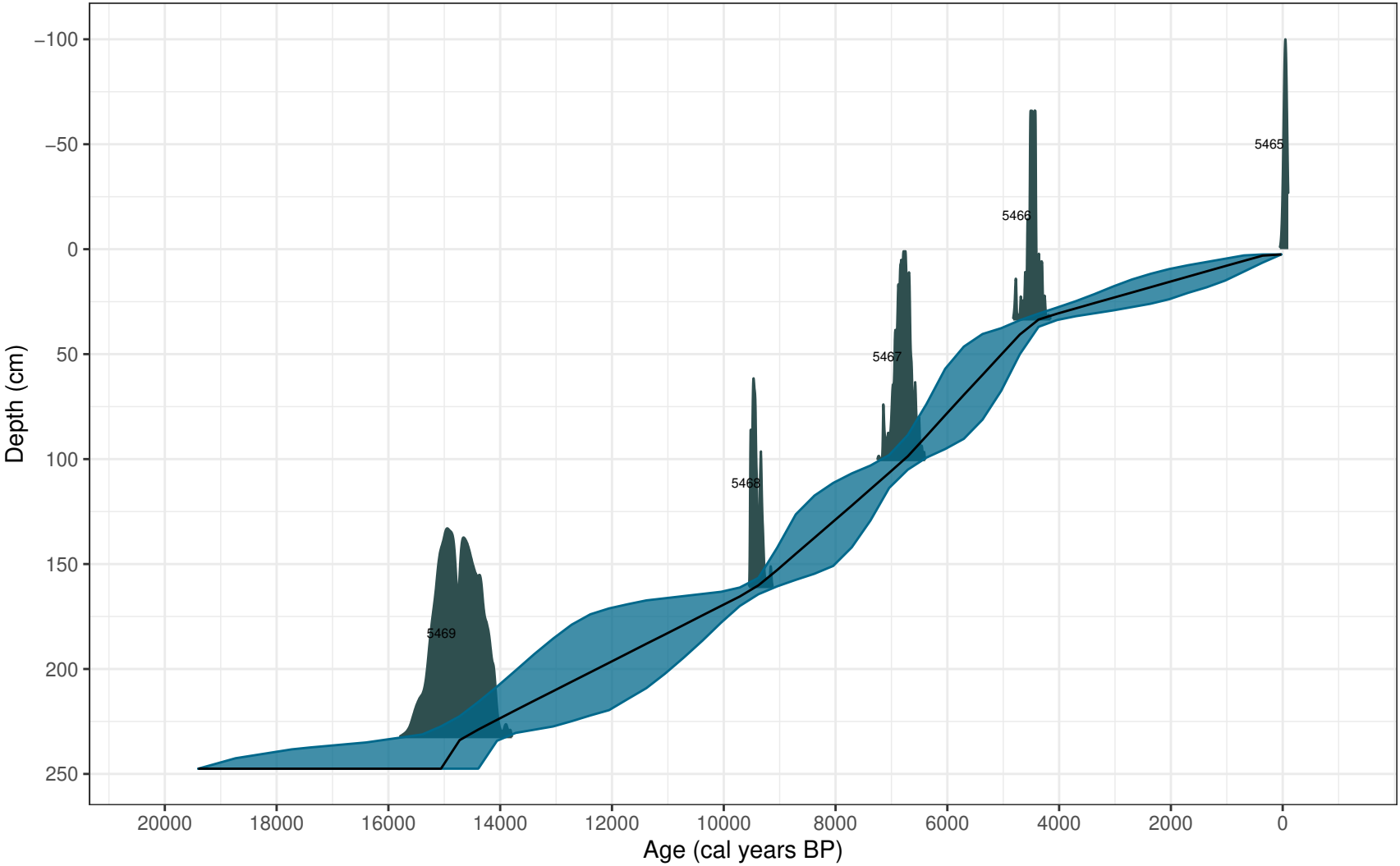

Porqui Pond; Dataset ID 1965

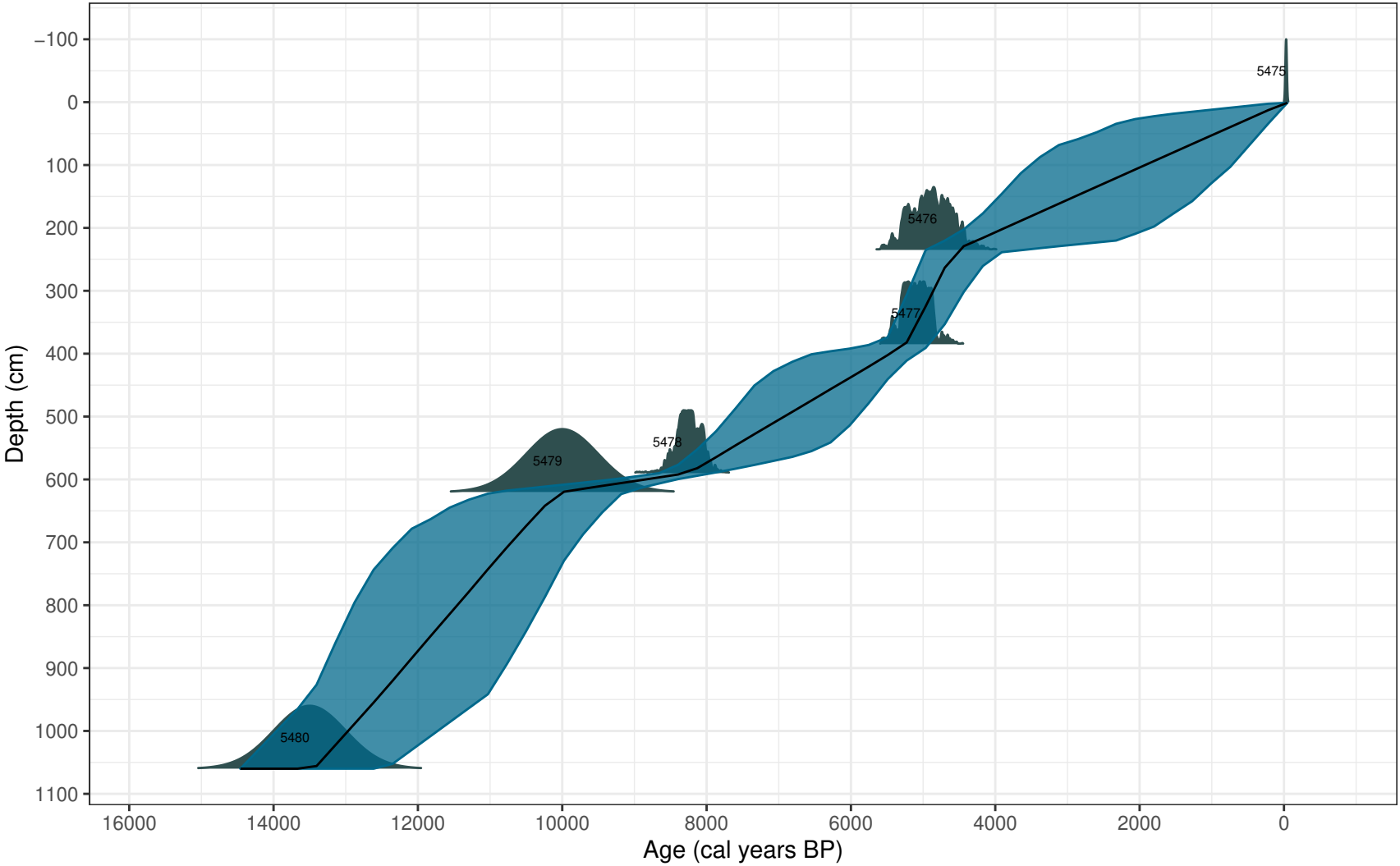

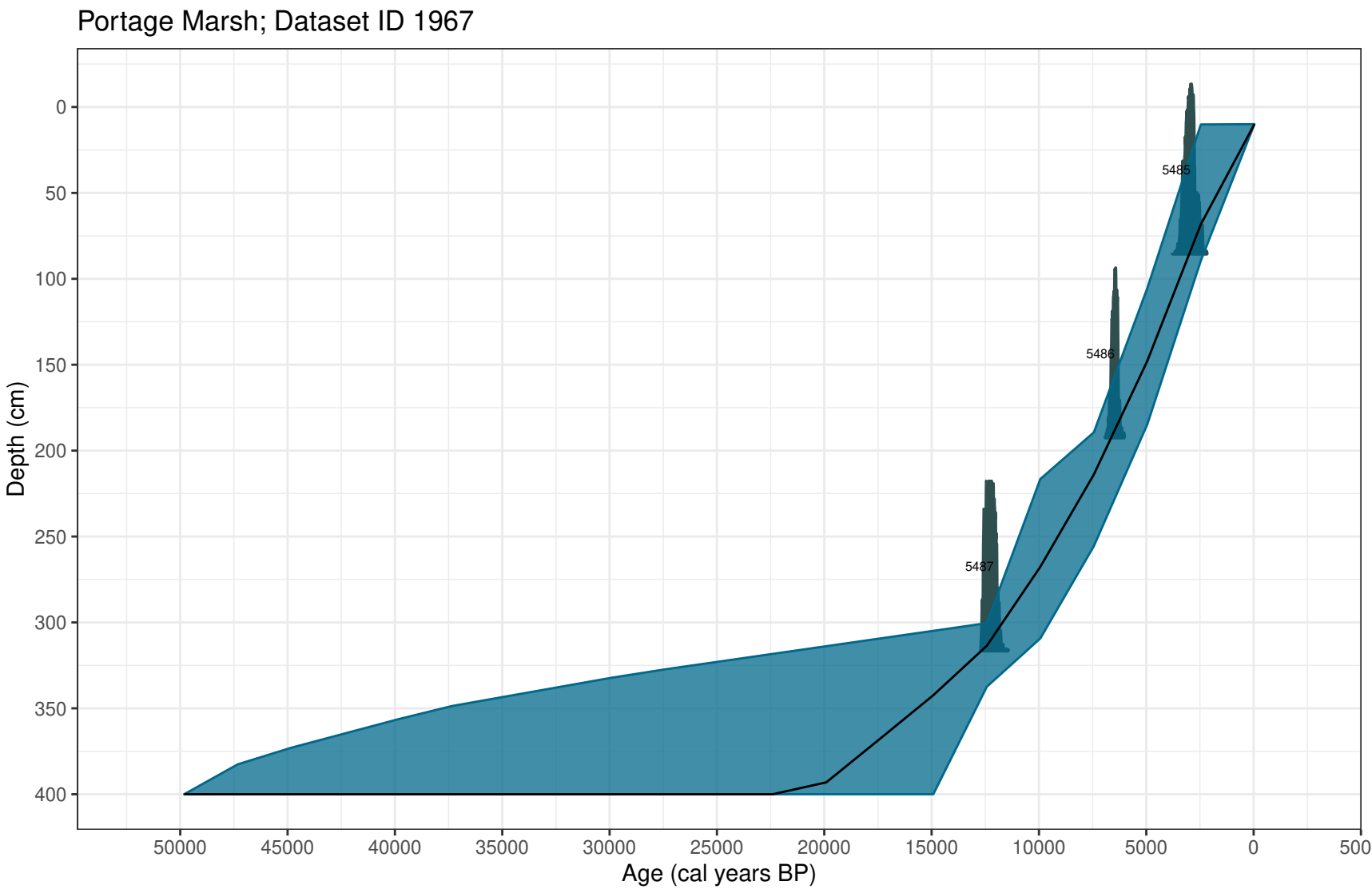
Portage Marsh; Dataset ID 1967
Depth (cm)
0
50
100
150
200
250
300
350
400
5485
5486
5487
50000
45000
40000
35000
30000
25000
20000
15000
10000
5000
0
500
Age (cal years BP)

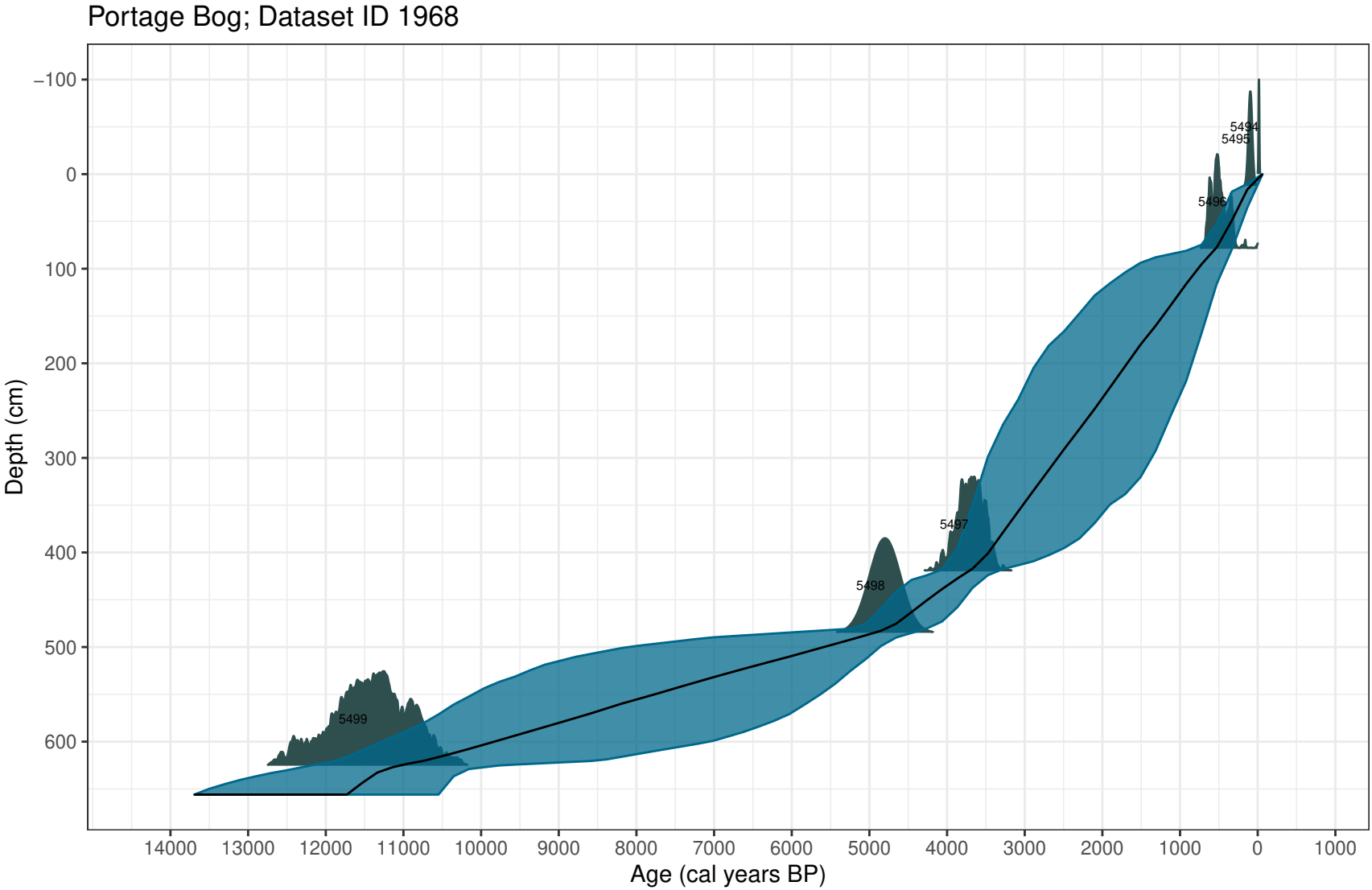
Portage Bog; Dataset ID 1968
Depth (cm)
−100
0
100
200
300
400
500
600
Age (cal years BP)
14000
13000
12000
11000
10000
9000
8000
7000
6000
5000
4000
3000
2000
1000
0
1000
5494
5495
5496
5497
5498
5499

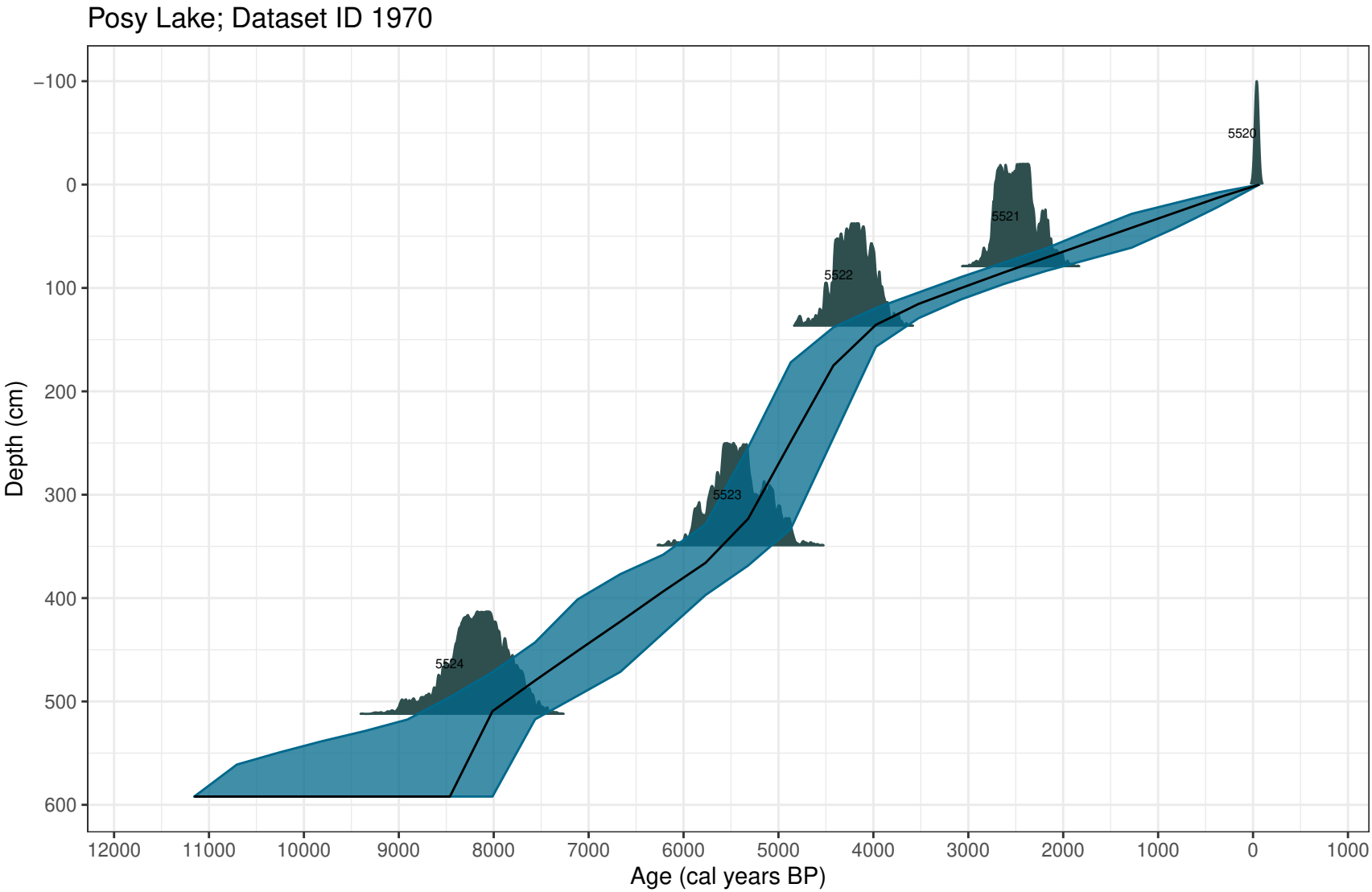
Posy Lake; Dataset ID 1970
Depth (cm)
−100
0
100
200
300
400
500
600
Age (cal years BP)
12000
11000
10000
9000
8000
7000
6000
5000
4000
3000
2000
1000
0
1000
5520
5521
5522
5523
5524

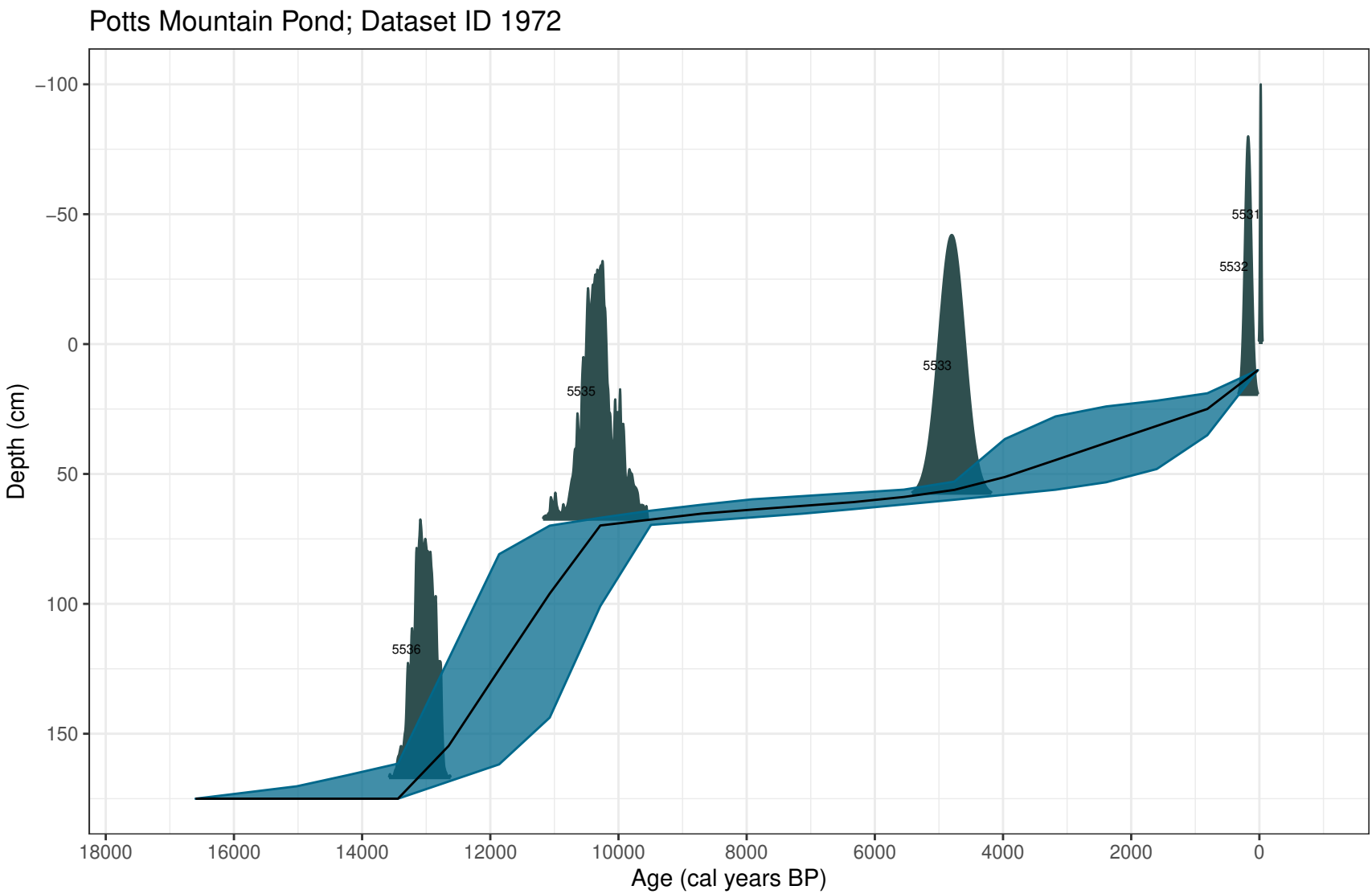
Potts Mountain Pond; Dataset ID 1972
Depth (cm)
−100
−50
0
50
100
150
5531
5532
5533
5535
5536
18000
16000
14000
12000
10000
8000
6000
4000
2000
0
Age (cal years BP)

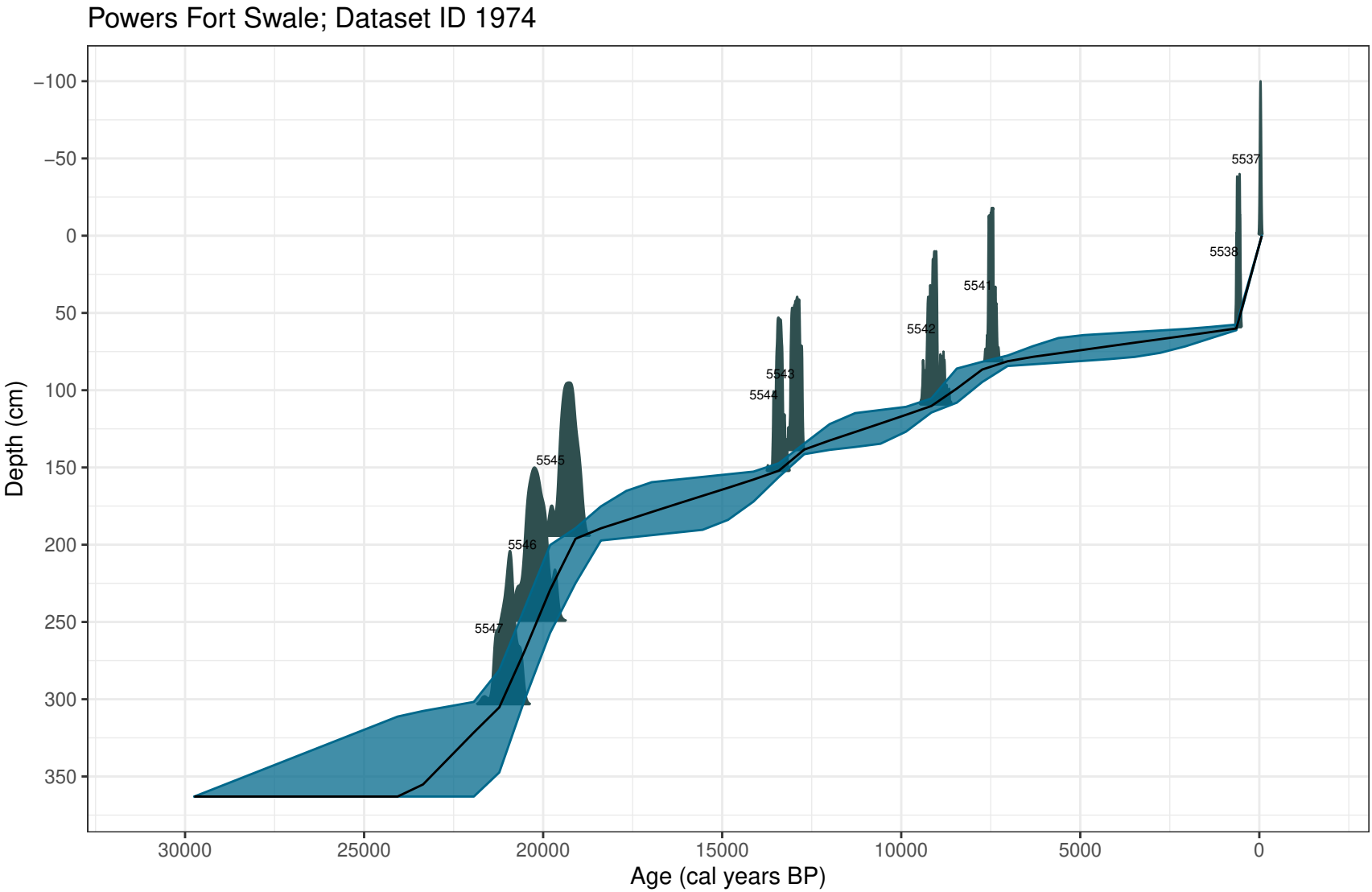
Powers Fort Swale; Dataset ID 1974
Depth (cm)
−100
−50
0
50
100
150
200
250
300
350
Age (cal years BP)
30000
25000
20000
15000
10000
5000
0
5537
5538
5541
5542
5543
5544
5545
5546
5547

Chesapeake Bay, Parker Creek; Dataset ID 1975

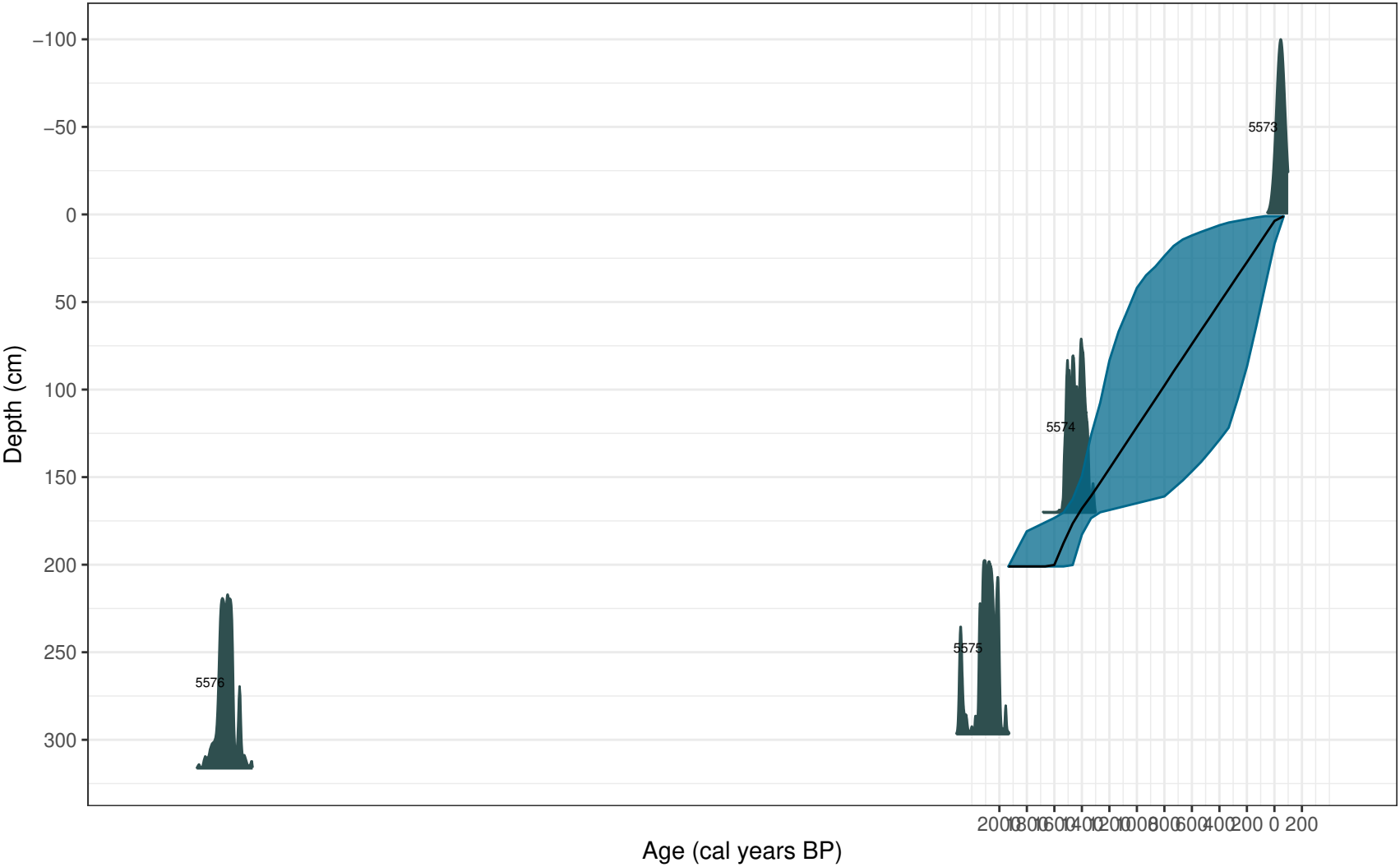

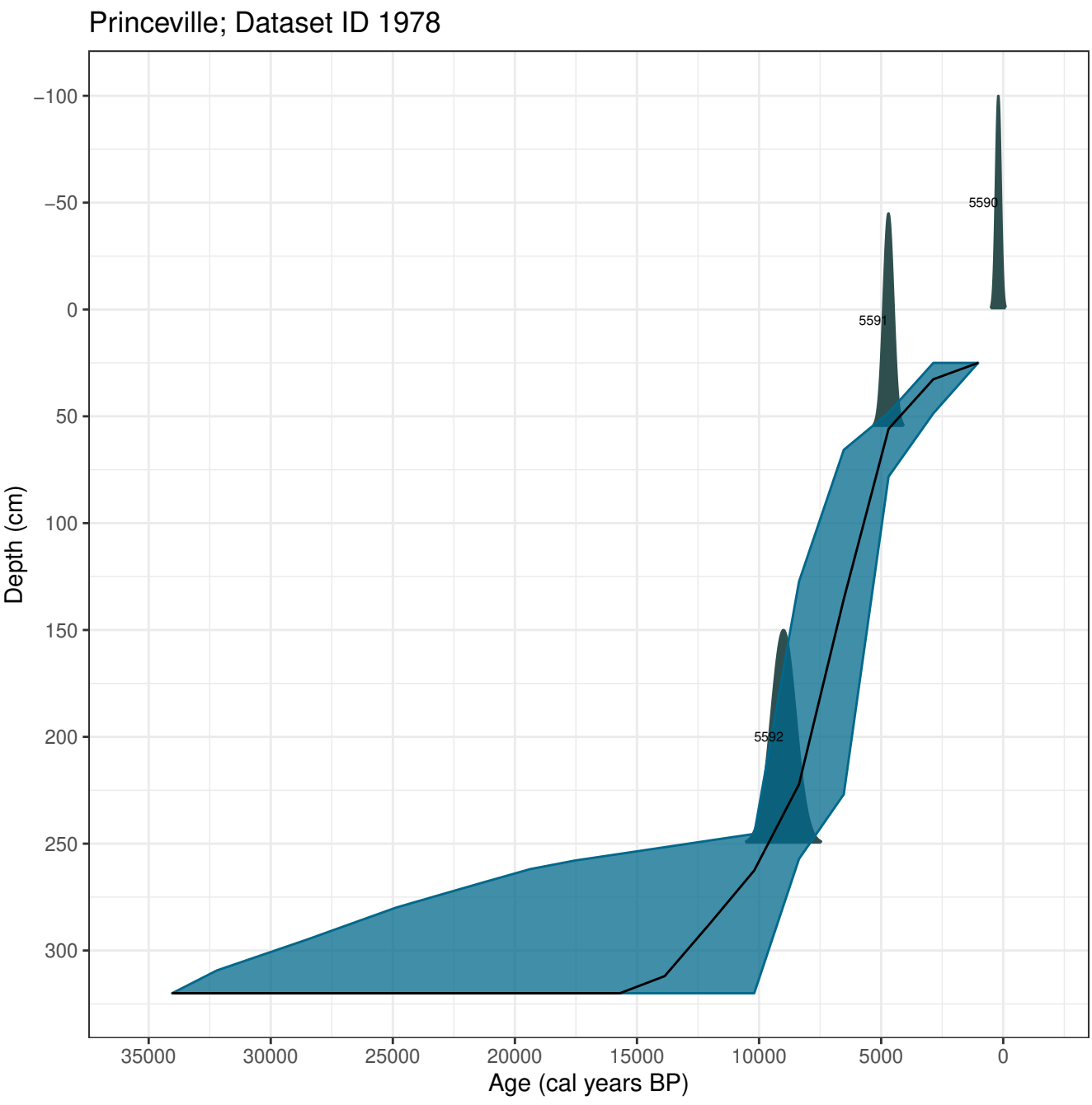
Princeville; Dataset ID 1978
Depth (cm)
−100
−50
0
50
100
150
200
250
300
5590
5591
5592
35000
30000
25000
20000
15000
10000
5000
0
Age (cal years BP)

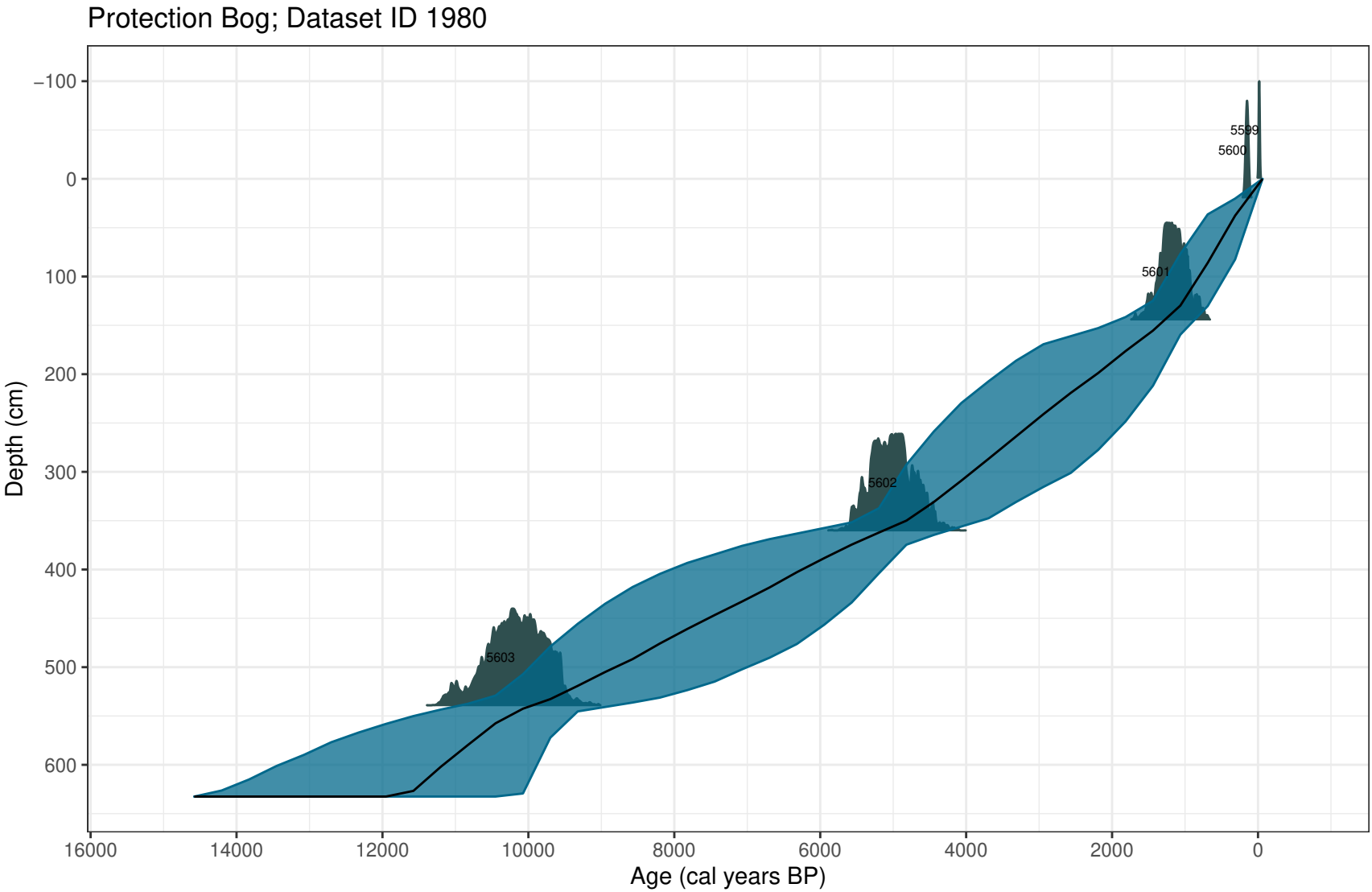
Protection Bog; Dataset ID 1980
Depth (cm)
−100
0
100
200
300
400
500
600
Age (cal years BP)
16000
14000
12000
10000
8000
6000
4000
2000
0
5599
5600
5601
5602
5603

Point Escuminac; Dataset ID 1981

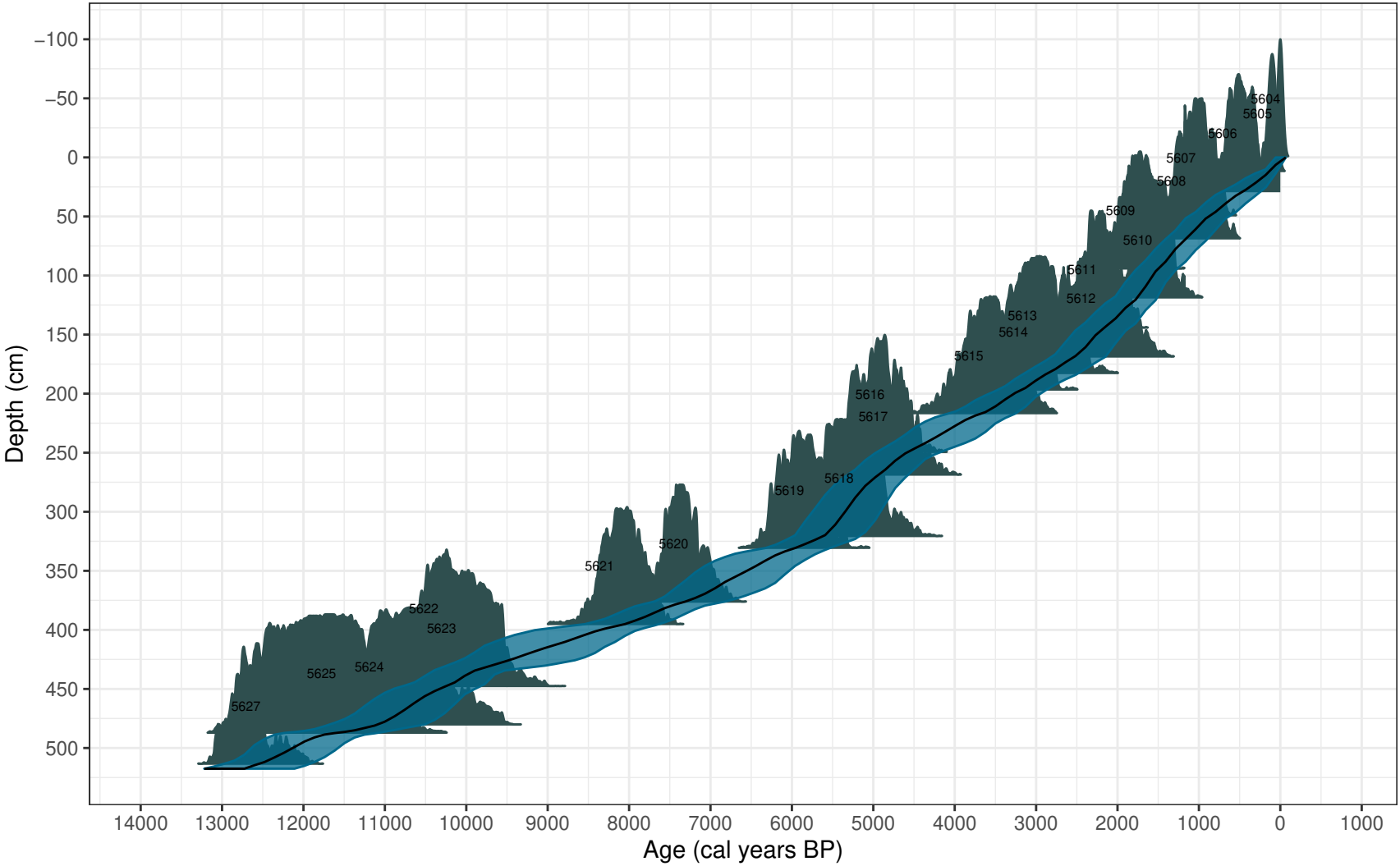

Madelia; Dataset ID 19812

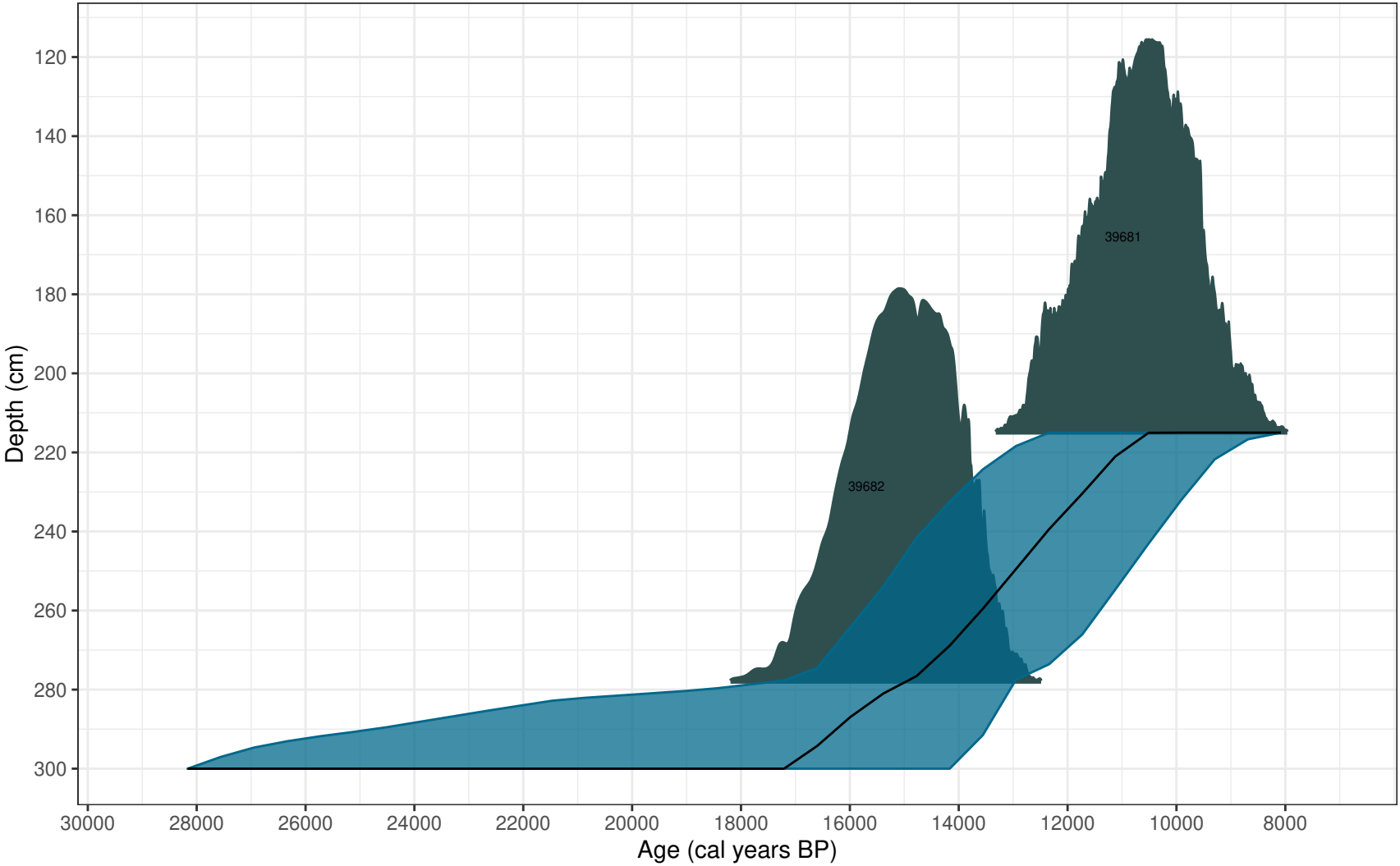

Chesapeake Bay, Patuxent River (2−P−5); Dataset ID 1984

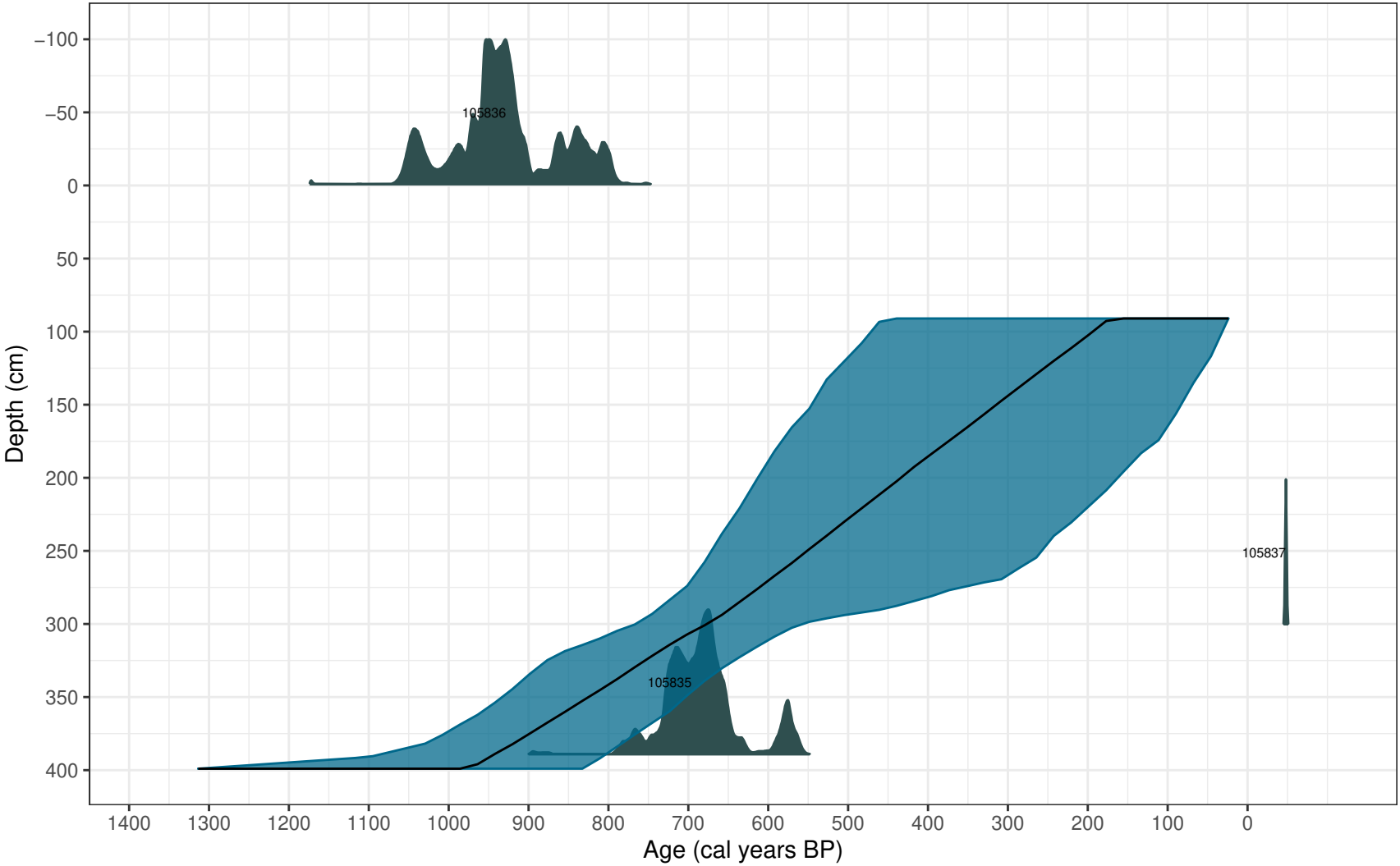

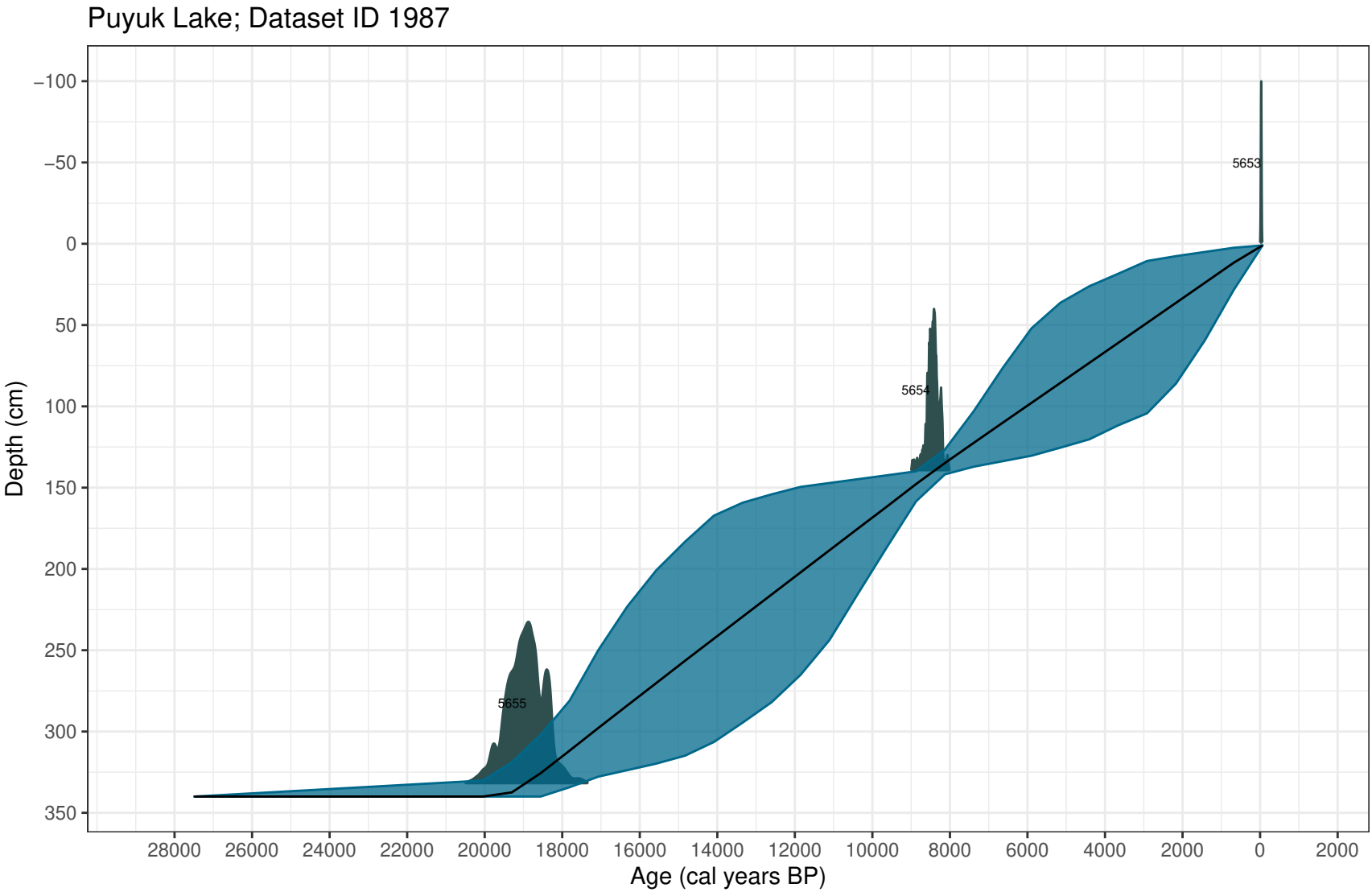
Puyuk Lake; Dataset ID 1987
Depth (cm)
−100
−50
0
50
100
150
200
250
300
350
5653
5654
5655
28000
26000
24000
22000
20000
18000
16000
14000
12000
10000
8000
6000
4000
2000
0
2000
Age (cal years BP)

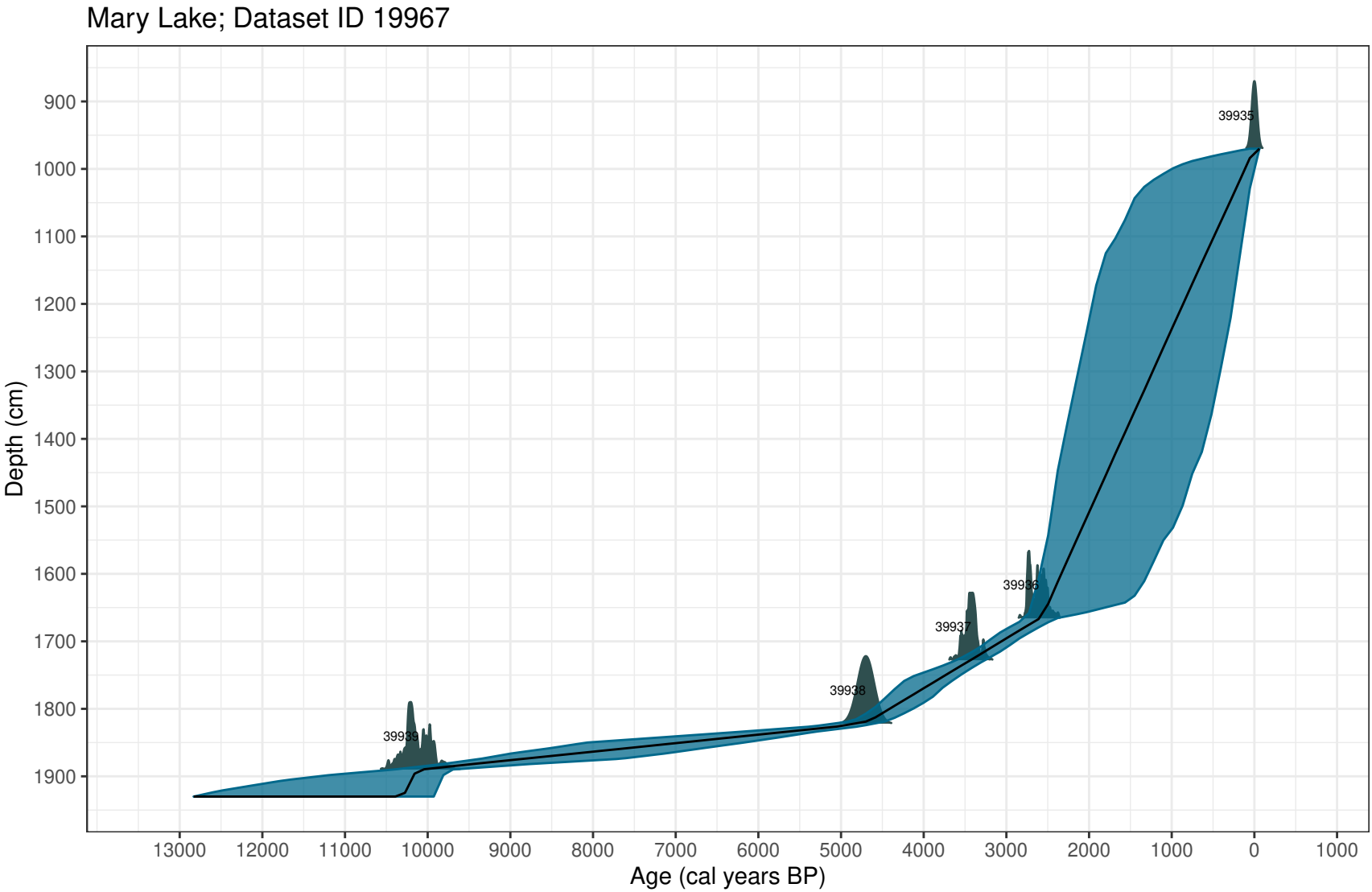
Mary Lake; Dataset ID 19967
Depth (cm)
900
1000
1100
1200
1300
1400
1500
1600
1700
1800
1900
39935
39936
39937
39938
39939
13000
12000
11000
10000
9000
8000
7000
6000
5000
4000
3000
2000
1000
0
1000
Age (cal years BP)

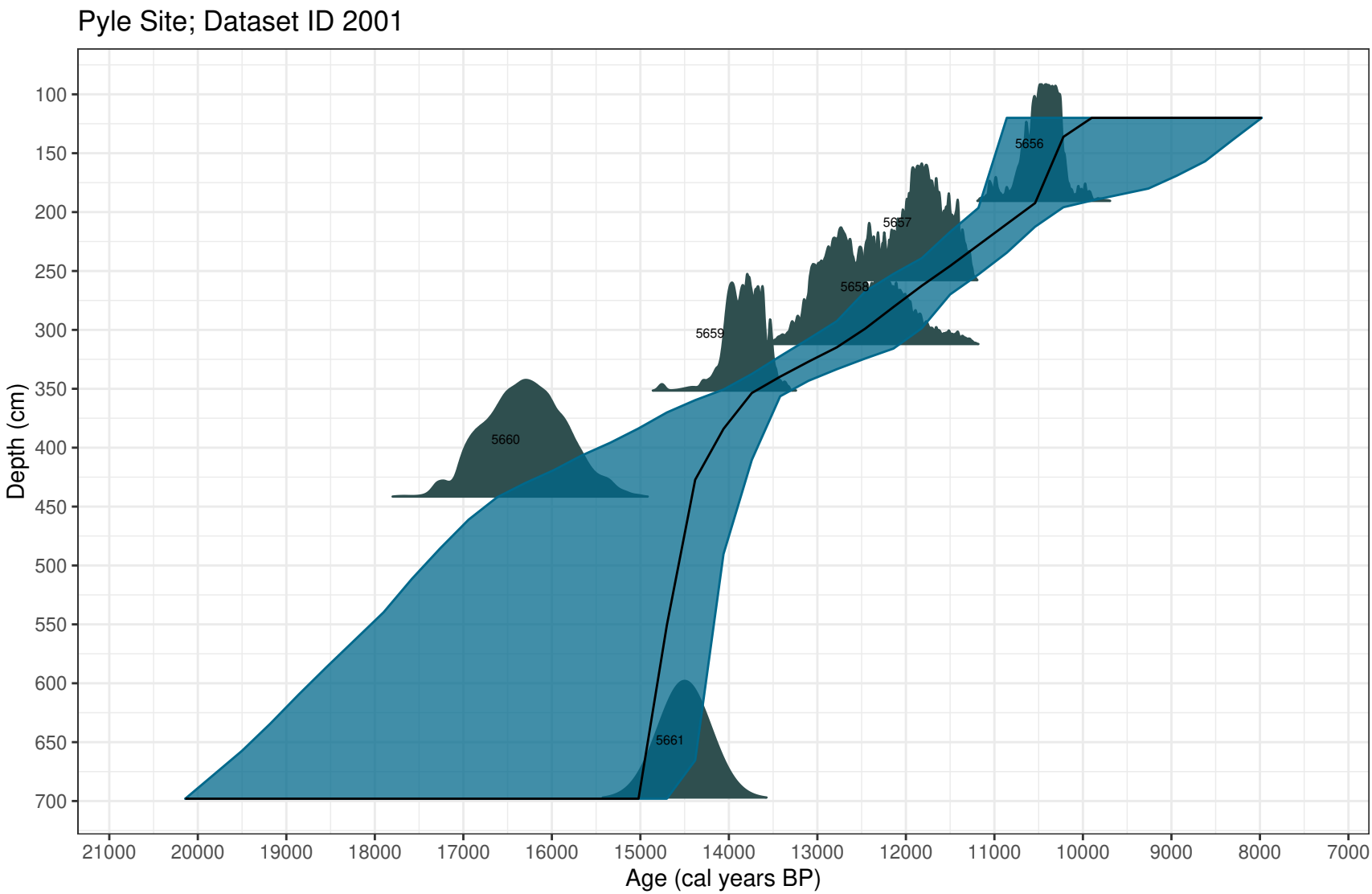
Pyle Site; Dataset ID 2001
Depth (cm)
100
150
200
250
300
350
400
450
500
550
600
650
700
Age (cal years BP)
21000
20000
19000
18000
17000
16000
15000
14000
13000
12000
11000
10000
9000
8000
7000
5656
5657
5658
5659
5660
5661

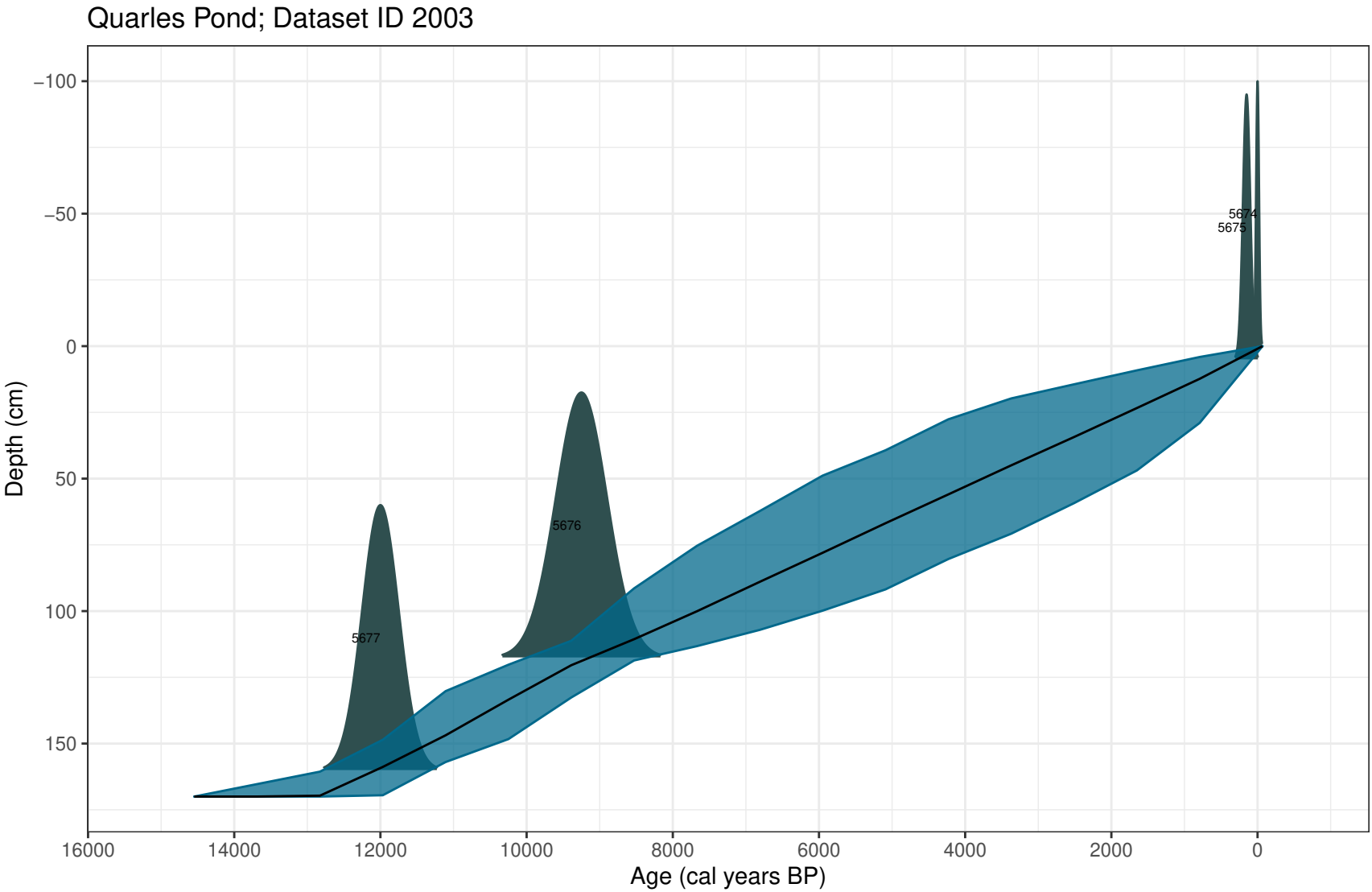
Quarles Pond; Dataset ID 2003
Depth (cm)
−100
−50
0
50
100
150
5674
5675
5676
5677
16000
14000
12000
10000
8000
6000
4000
2000
0
Age (cal years BP)

Queens Lake; Dataset ID 2004

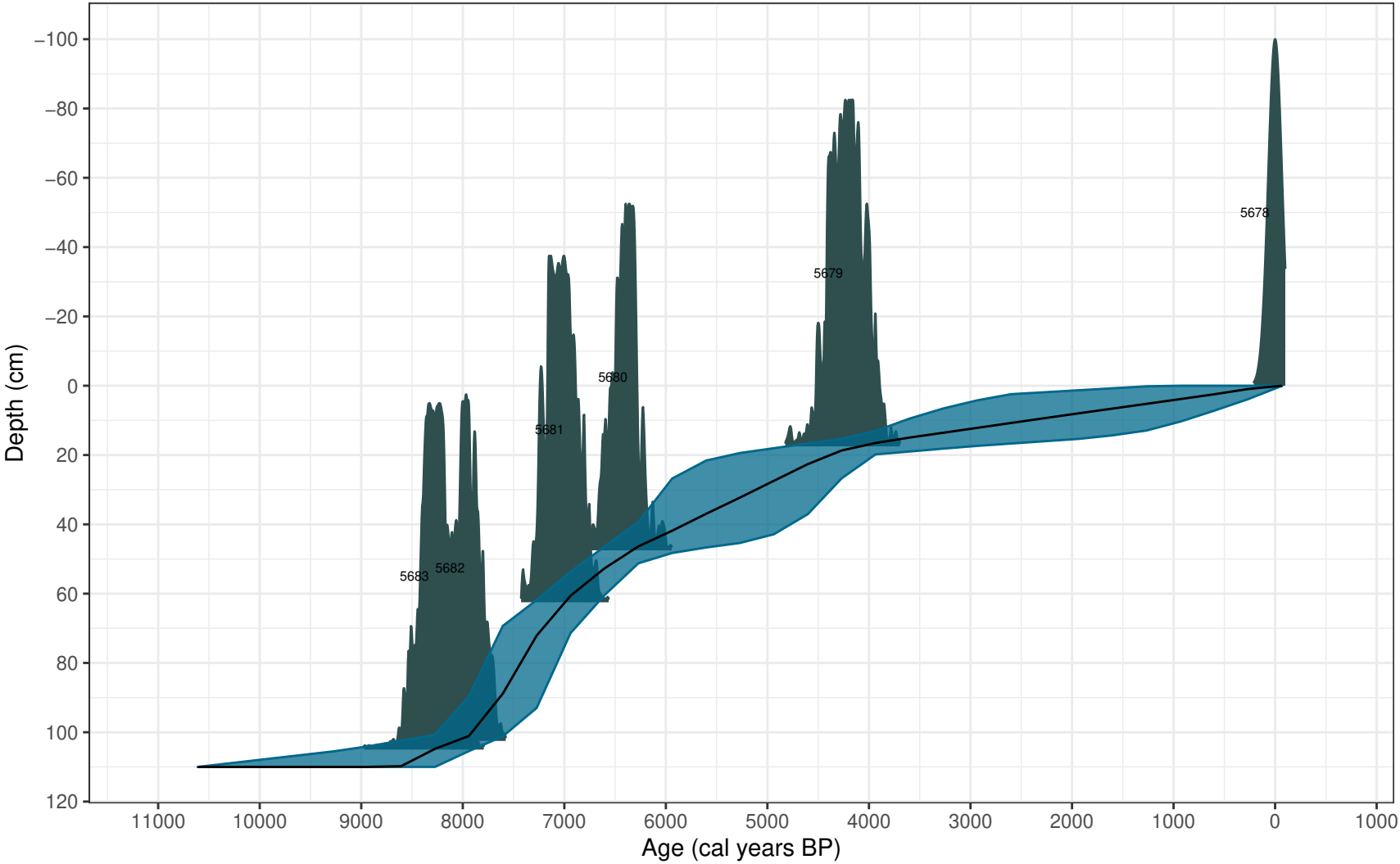

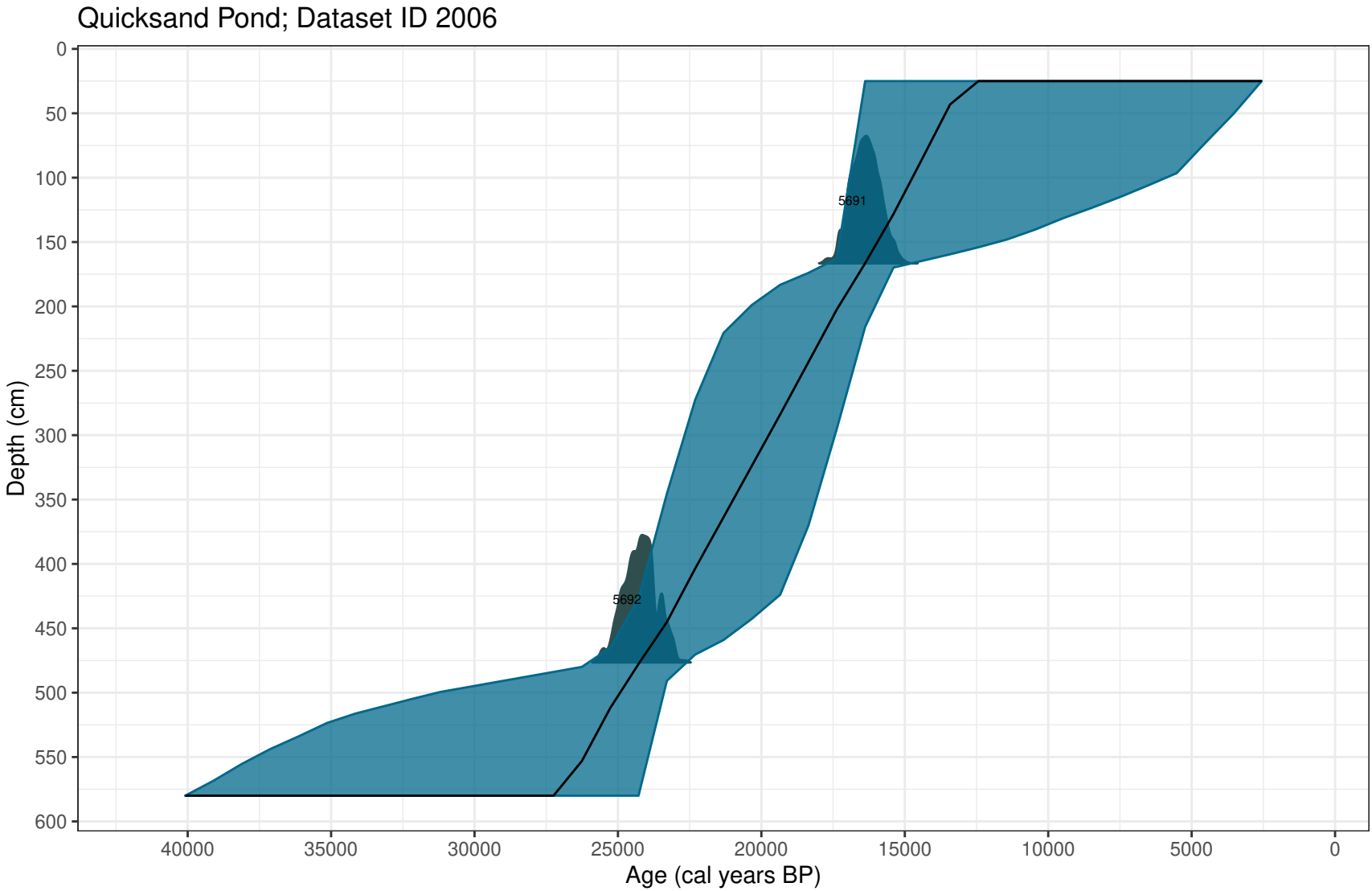
Quicksand Pond; Dataset ID 2006
Depth (cm)
0
50
100
150
200
250
300
350
400
450
500
550
600
5691
5692
40000
35000
30000
25000
20000
15000
10000
5000
0
Age (cal years BP)

Quillin Site; Dataset ID 2007

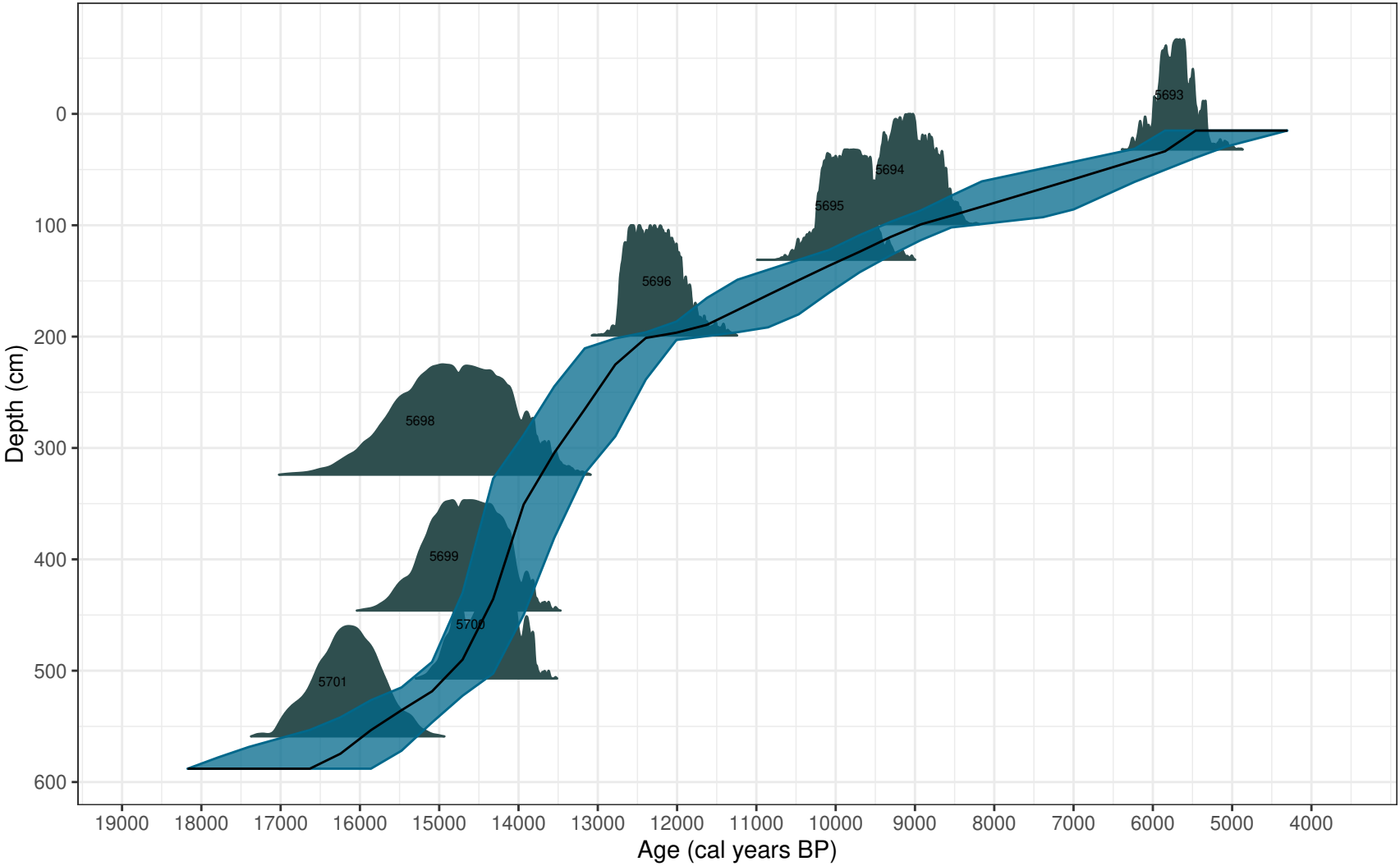

Rivière−aux−Feuilles 2; Dataset ID 2015

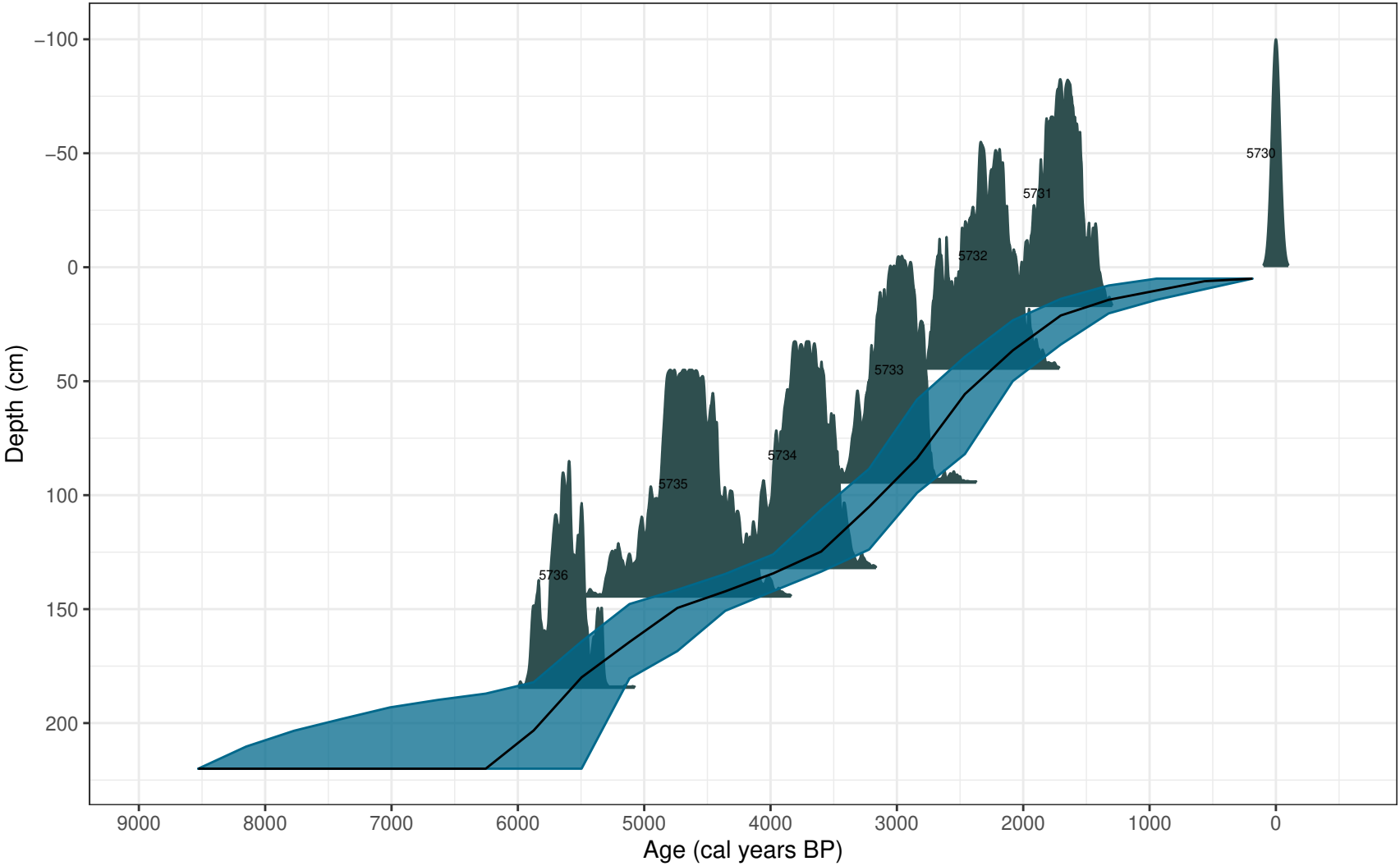

Tourbière de la Rivière−aux−Feuilles; Dataset ID 2016

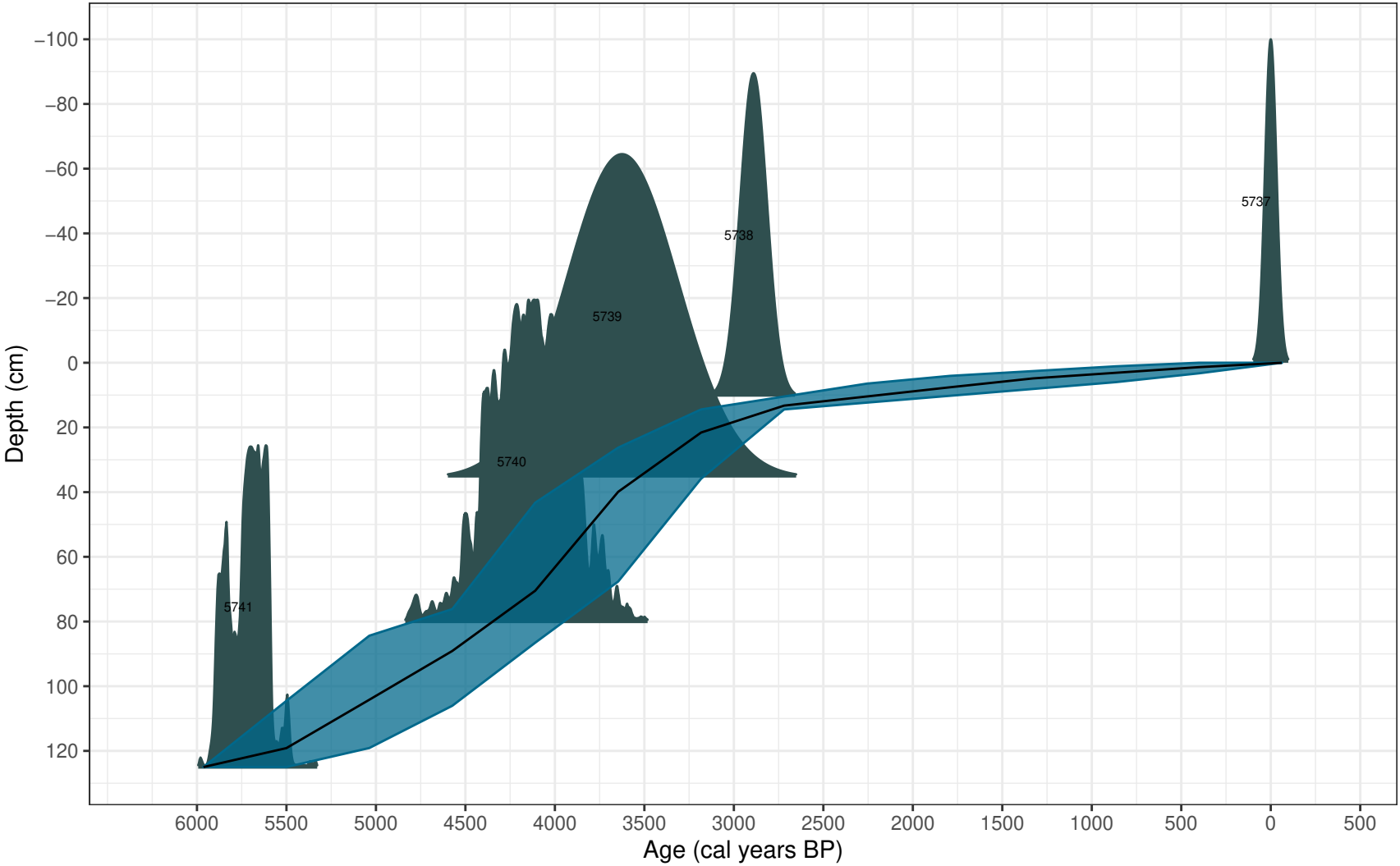

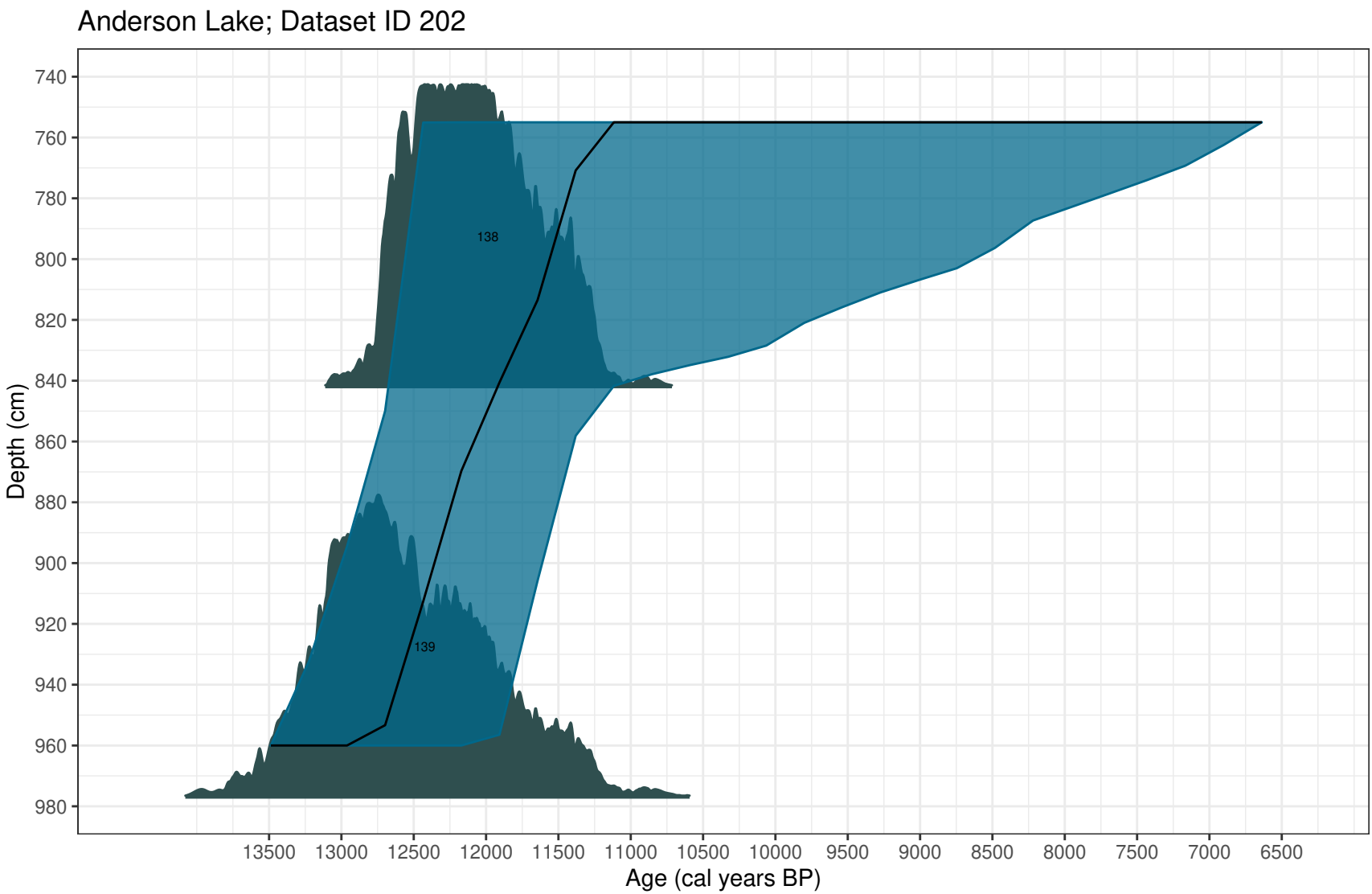
Anderson Lake; Dataset ID 202
Depth (cm)
740
760
780
800
820
840
860
880
900
920
940
960
980
138
139
13500
13000
12500
12000
11500
11000
10500
10000
9500
9000
8500
8000
7500
7000
6500
Age (cal years BP)

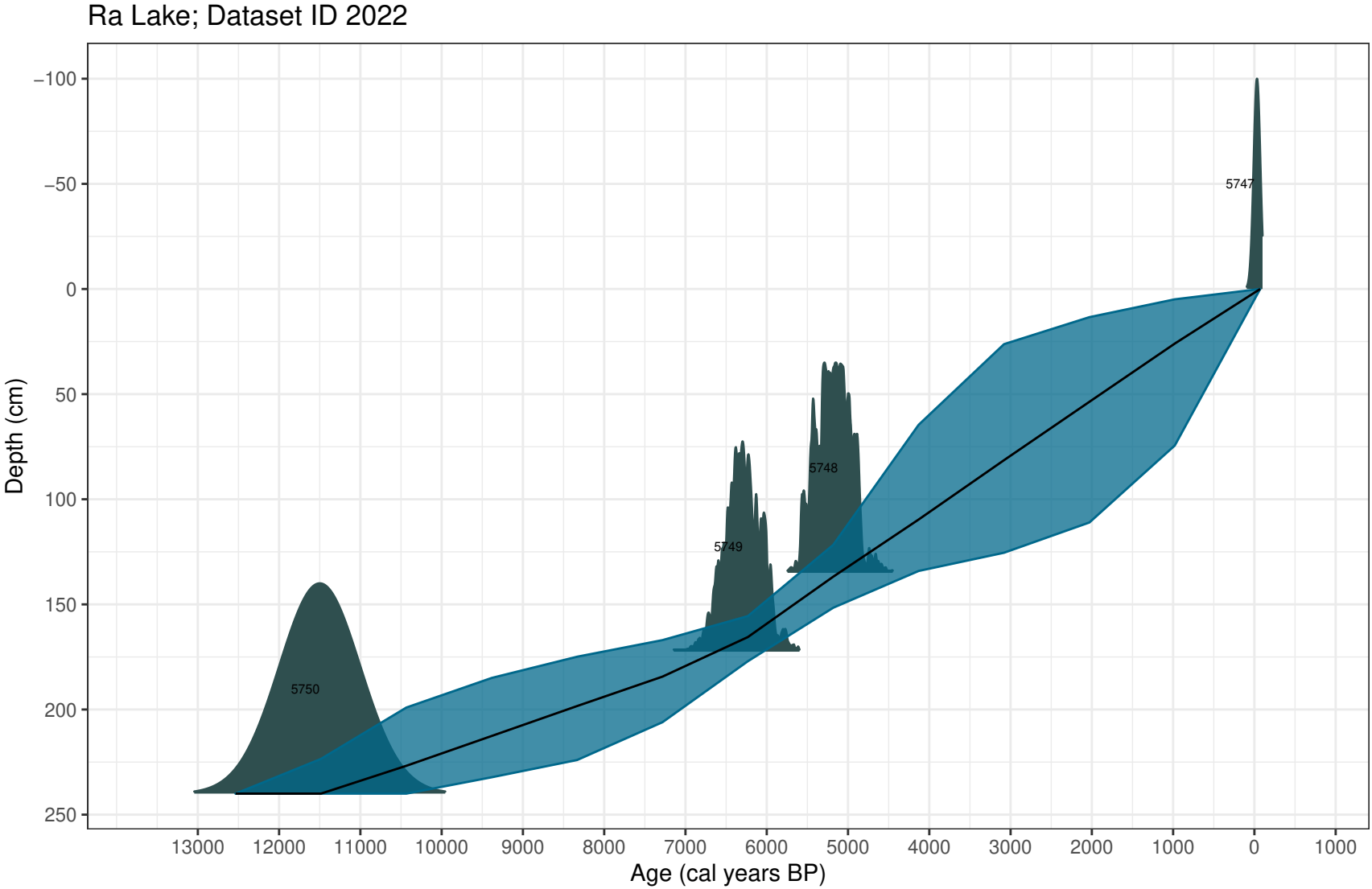
Ra Lake; Dataset ID 2022
Depth (cm)
−100
−50
0
50
100
150
200
250
Age (cal years BP)
13000
12000
11000
10000
9000
8000
7000
6000
5000
4000
3000
2000
1000
0
1000
5747
5748
5749
5750

Ramsay Lake; Dataset ID 2023

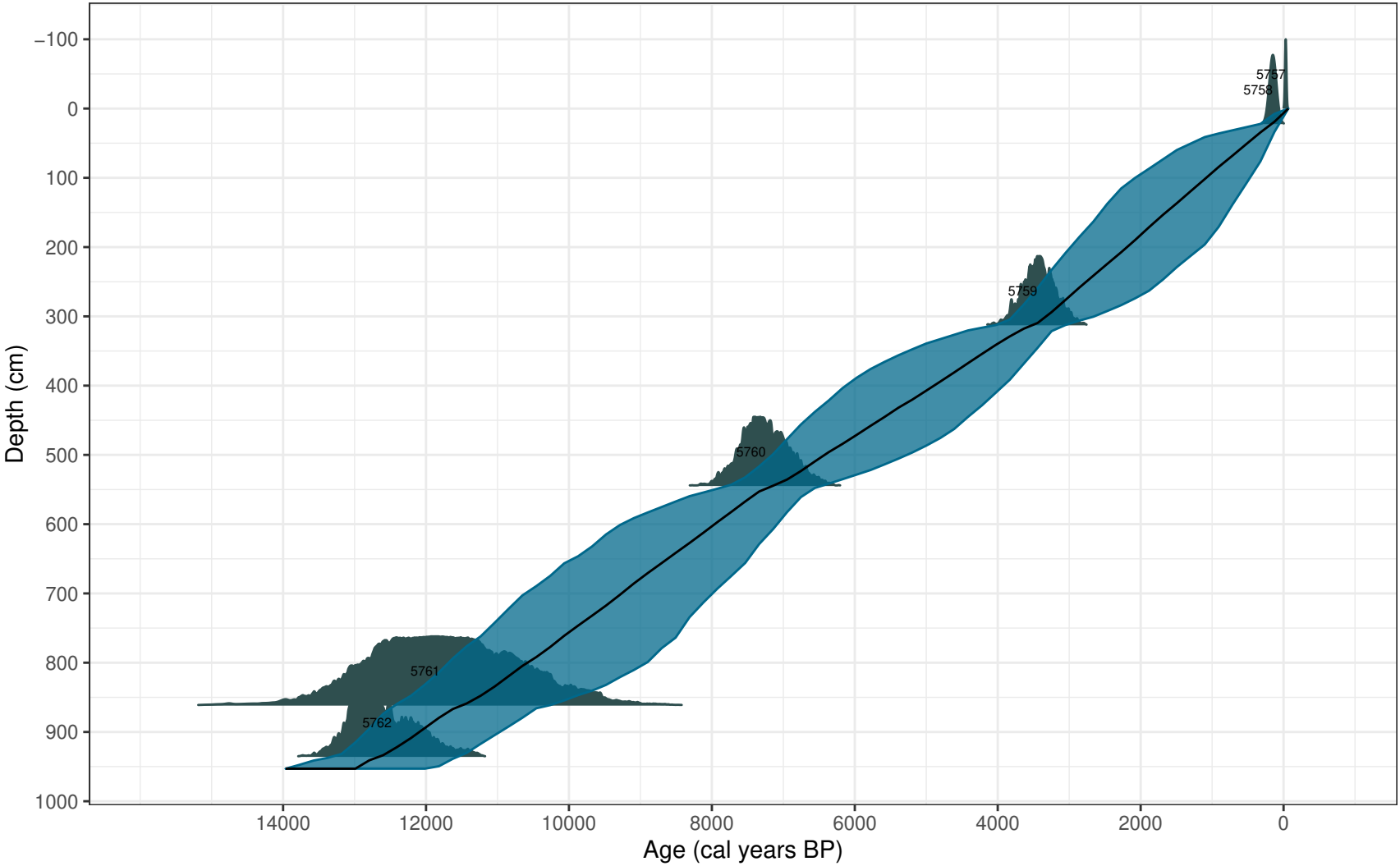

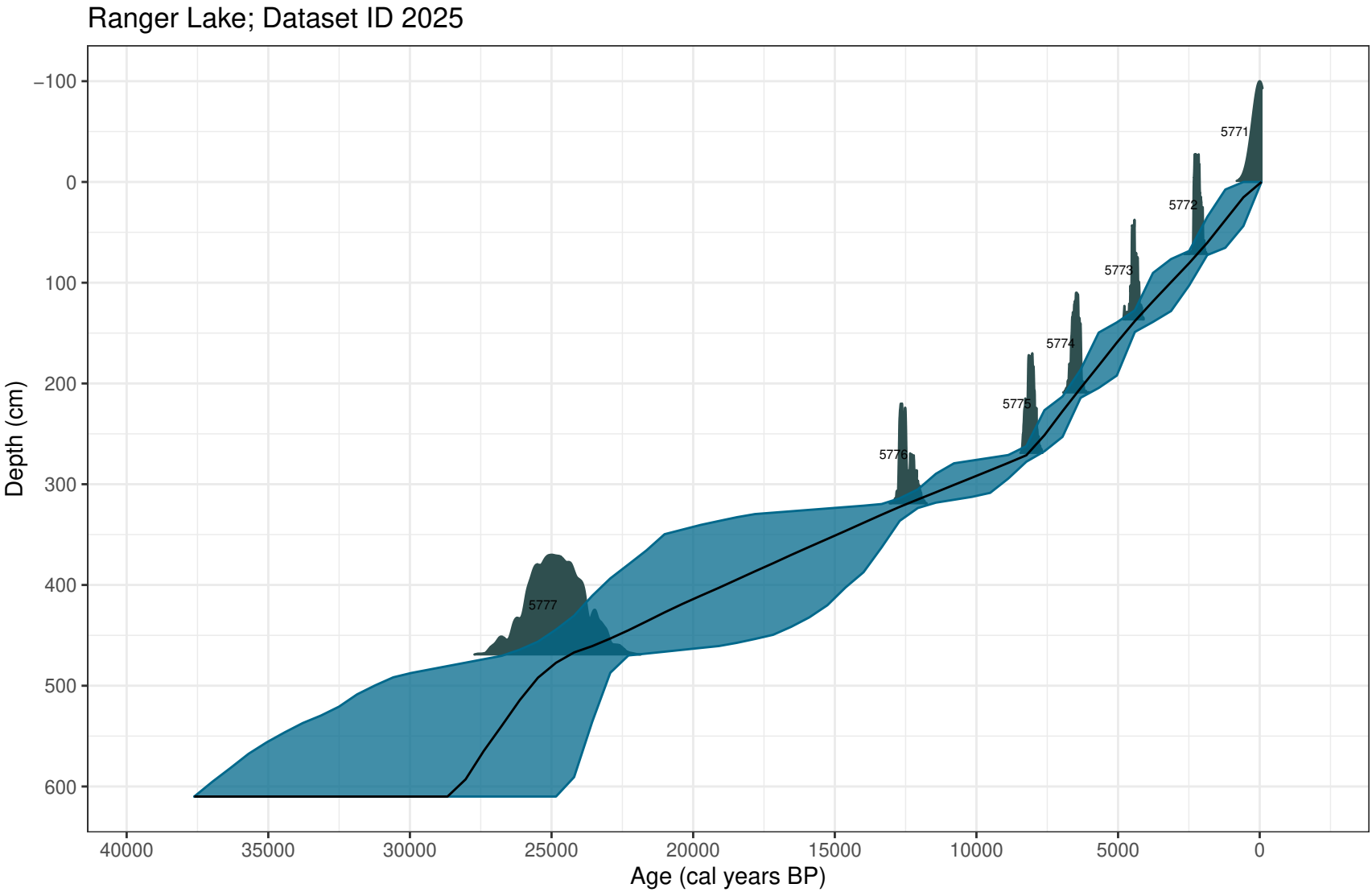
Ranger Lake; Dataset ID 2025
Depth (cm)
−100
0
100
200
300
400
500
600
Age (cal years BP)
40000
35000
30000
25000
20000
15000
10000
5000
0
5771
5772
5773
5774
5775
5776
5777

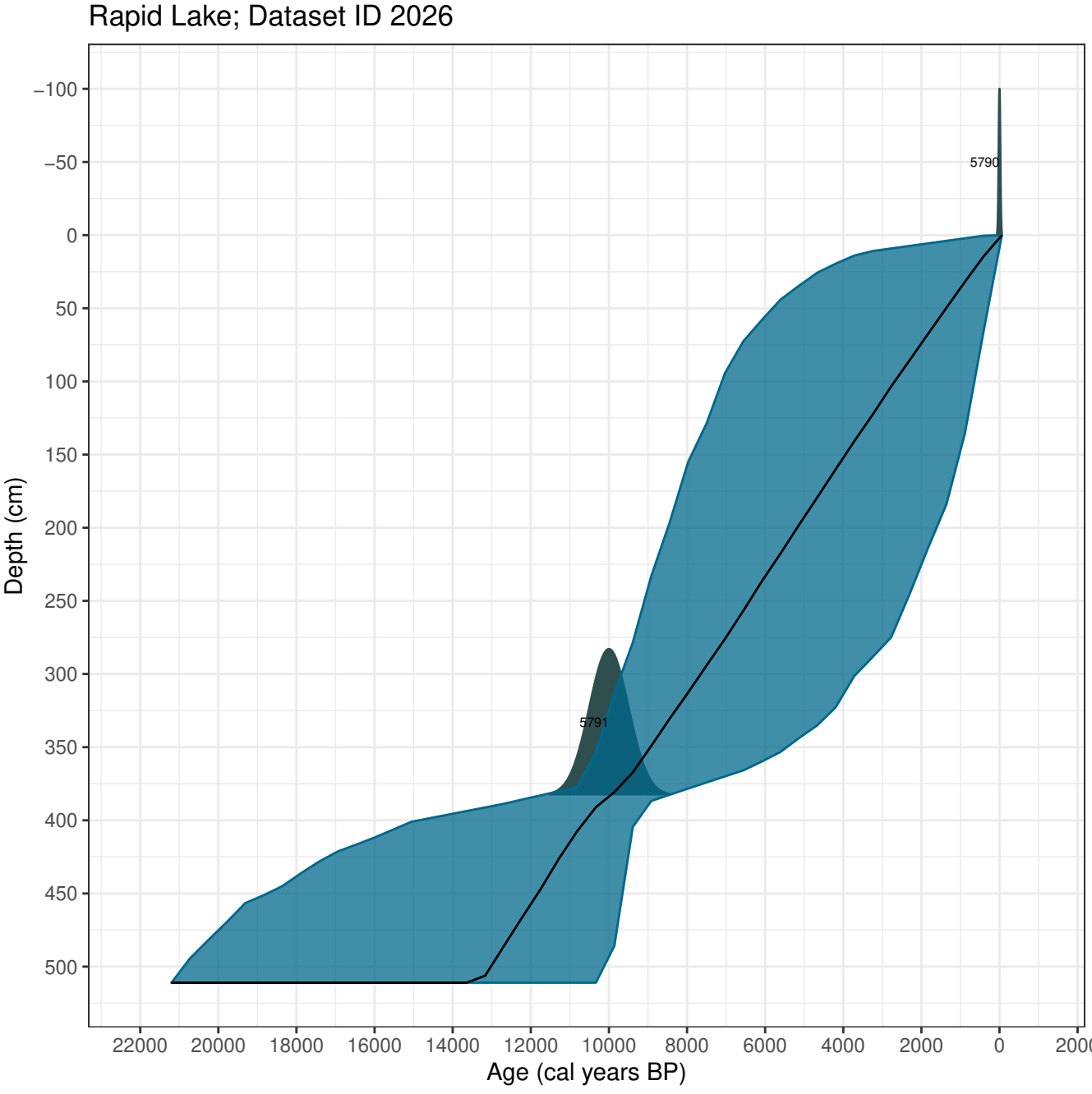
Rapid Lake; Dataset ID 2026
Depth (cm)
−100
−50
0
50
100
150
200
250
300
350
400
450
500
5790
5791
22000
20000
18000
16000
14000
12000
10000
8000
6000
4000
2000
0
2000
Age (cal years BP)

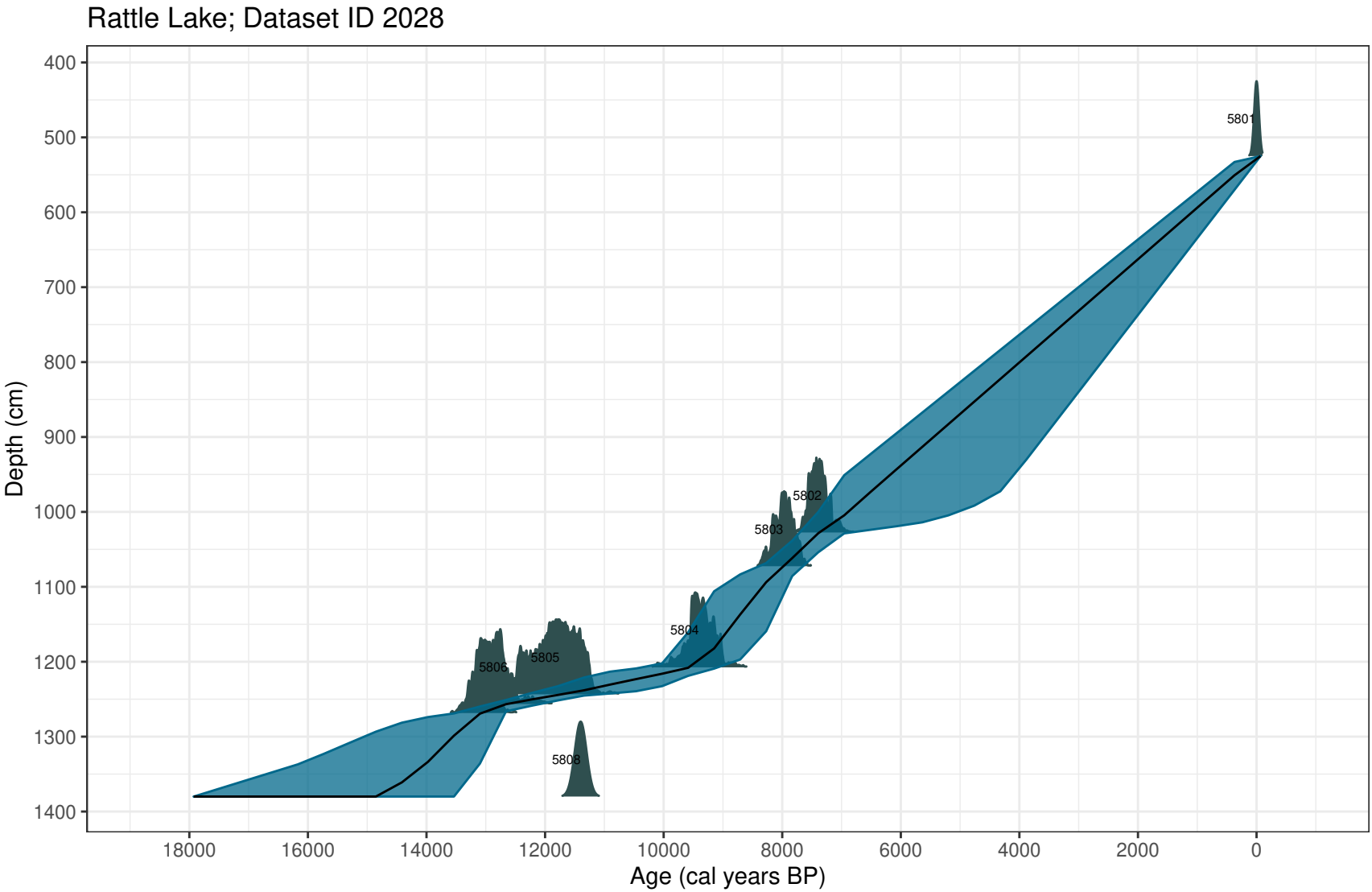
Rattle Lake; Dataset ID 2028
Depth (cm)
400
500
600
700
800
900
1000
1100
1200
1300
1400
18000
16000
14000
12000
10000
8000
6000
4000
2000
0
Age (cal years BP)
5801
5802
5803
5804
5805
5806
5808

Anderson Pond; Dataset ID 203

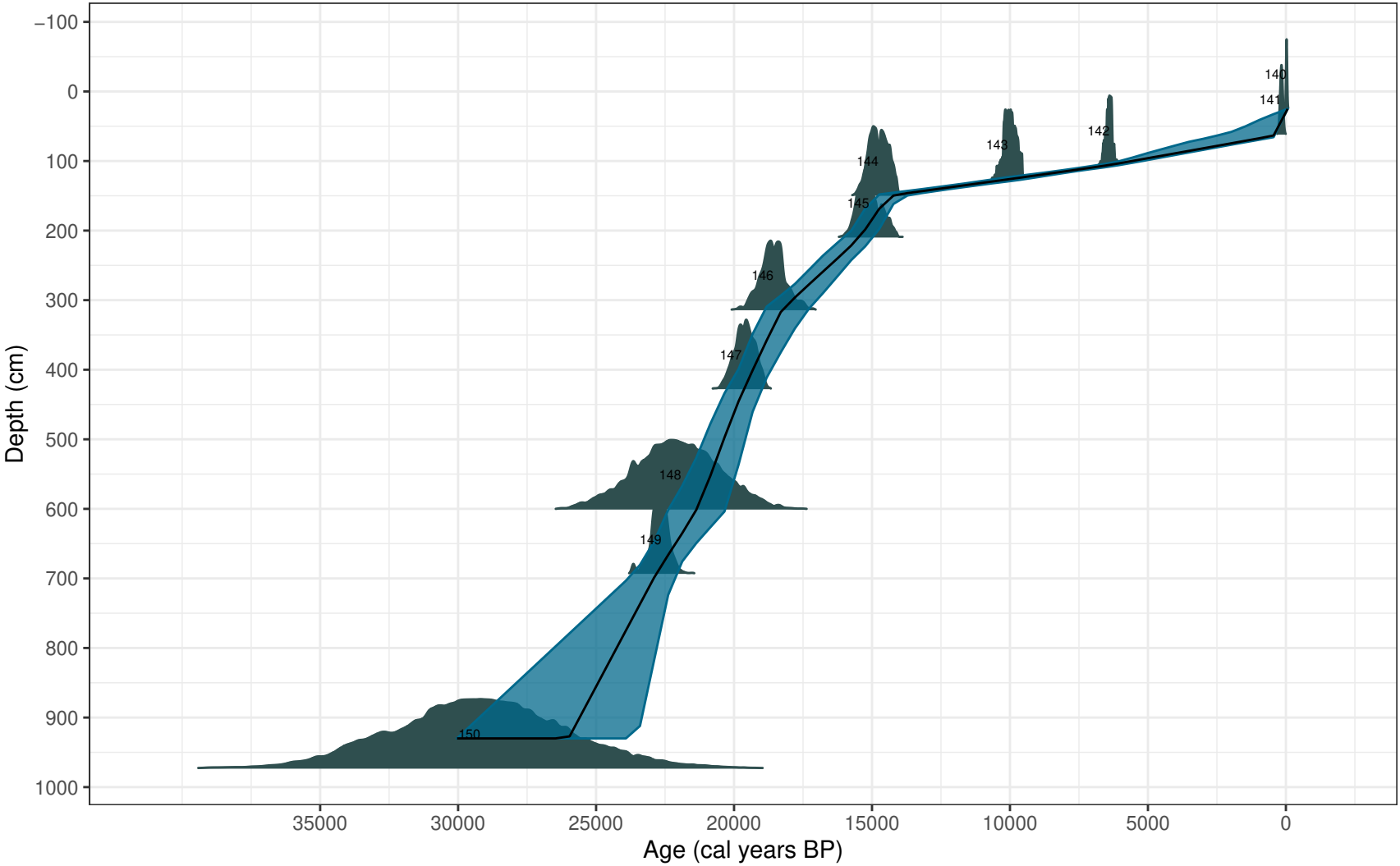

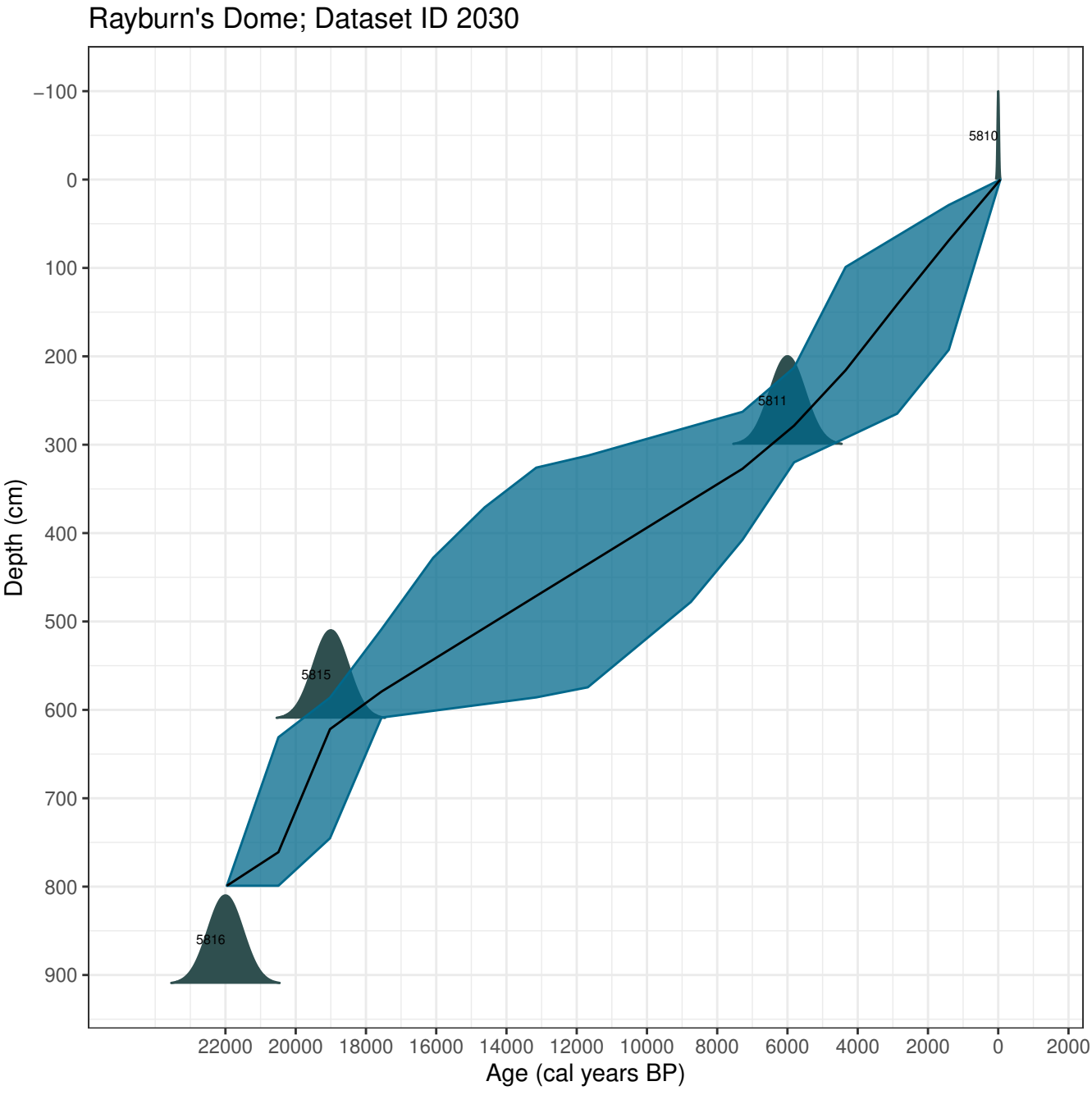
Rayburn's Dome; Dataset ID 2030
Depth (cm)
−100
0
100
200
300
400
500
600
700
800
900
5810
5811
5815
5816
22000
20000
18000
16000
14000
12000
10000
8000
6000
4000
2000
0
2000
Age (cal years BP)

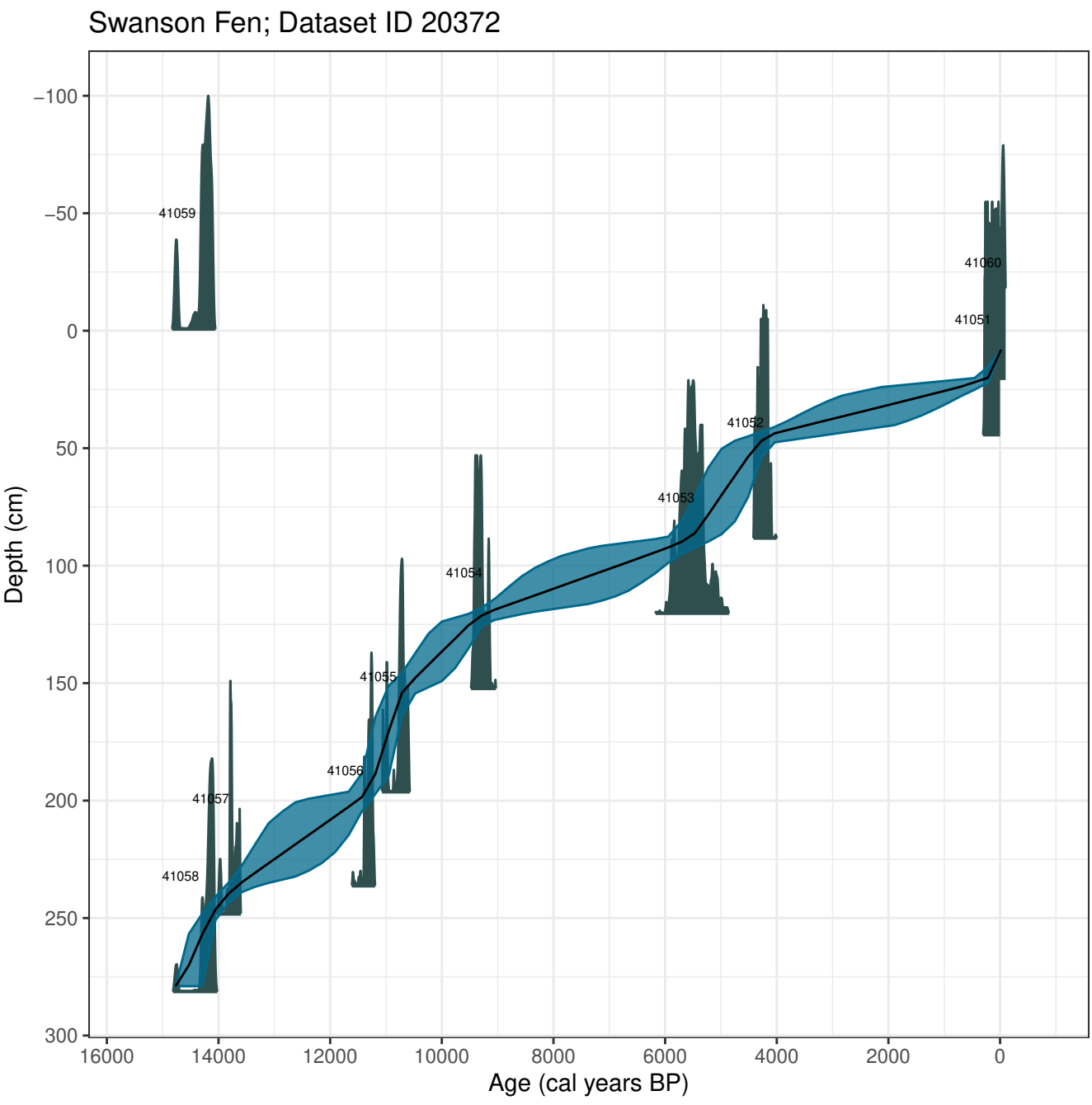
Swanson Fen; Dataset ID 20372
Depth (cm)
Age (cal years BP)
−100
−50
0
50
100
150
200
250
300
16000
14000
12000
10000
8000
6000
4000
2000
0
41059
41060
41051
41052
41053
41054
41055
41056
41057
41058

Rebel Lake; Dataset ID 2045

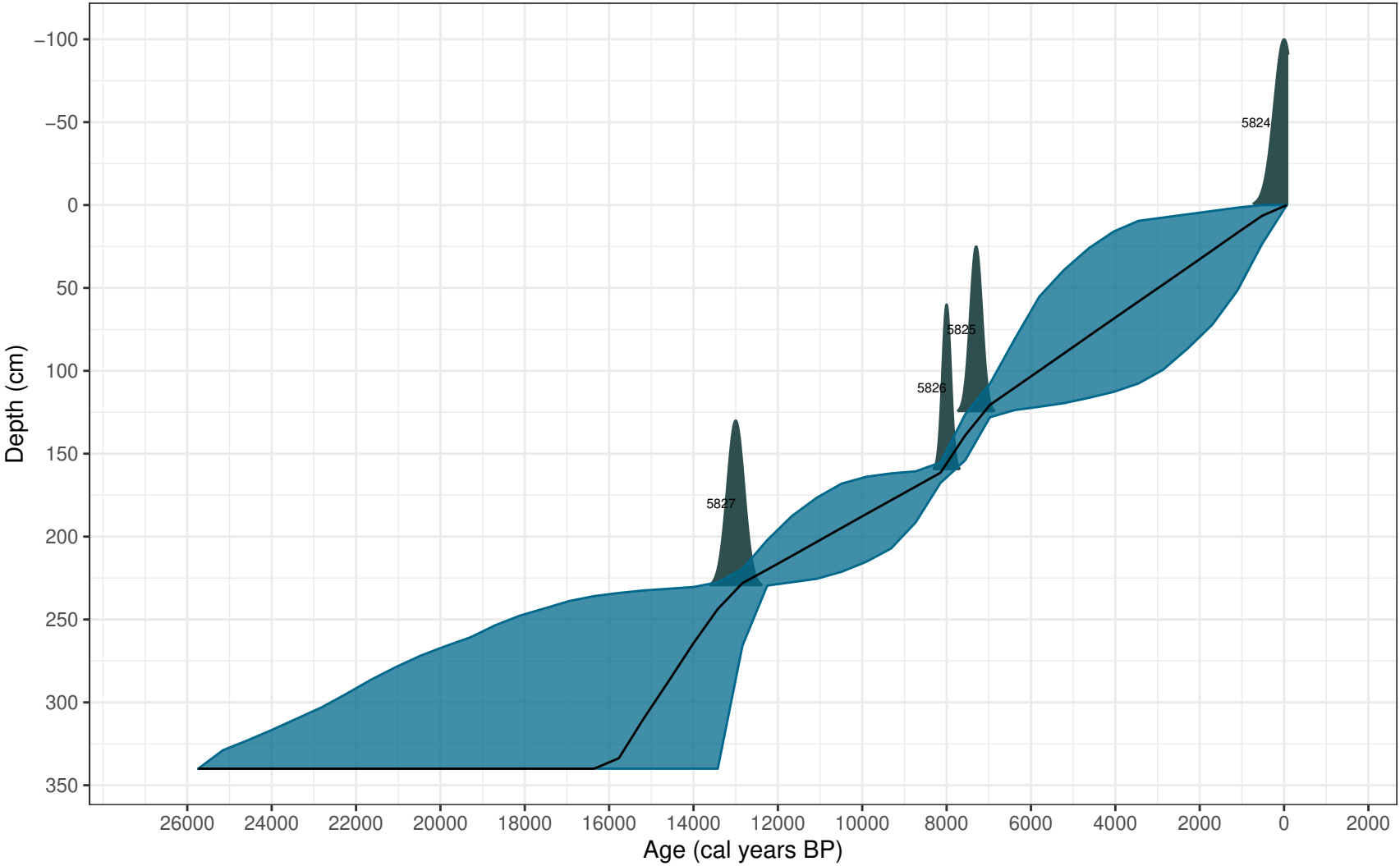

Vallée de l'Albion; Dataset ID 2048

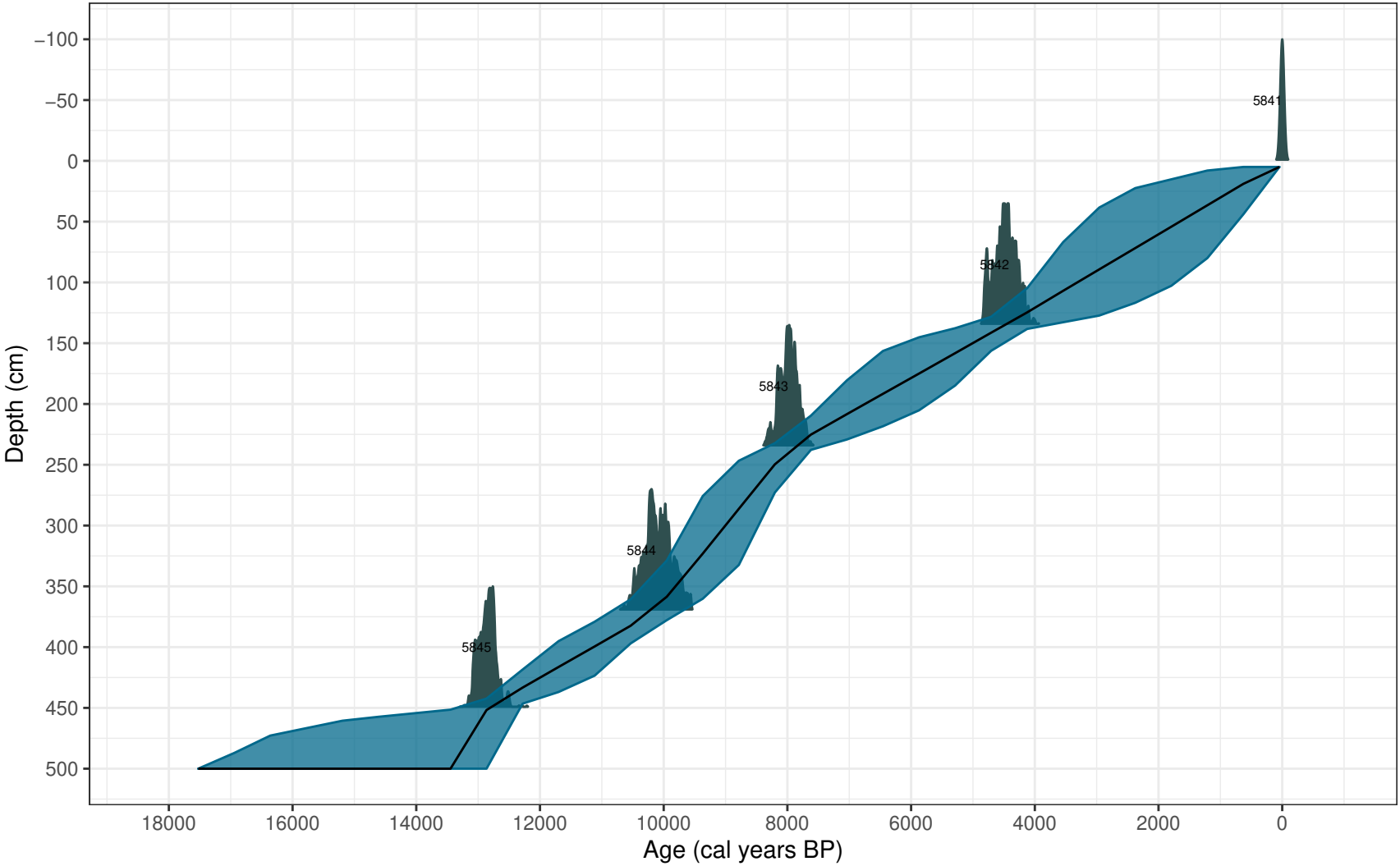

Redrock Lake; Dataset ID 2049

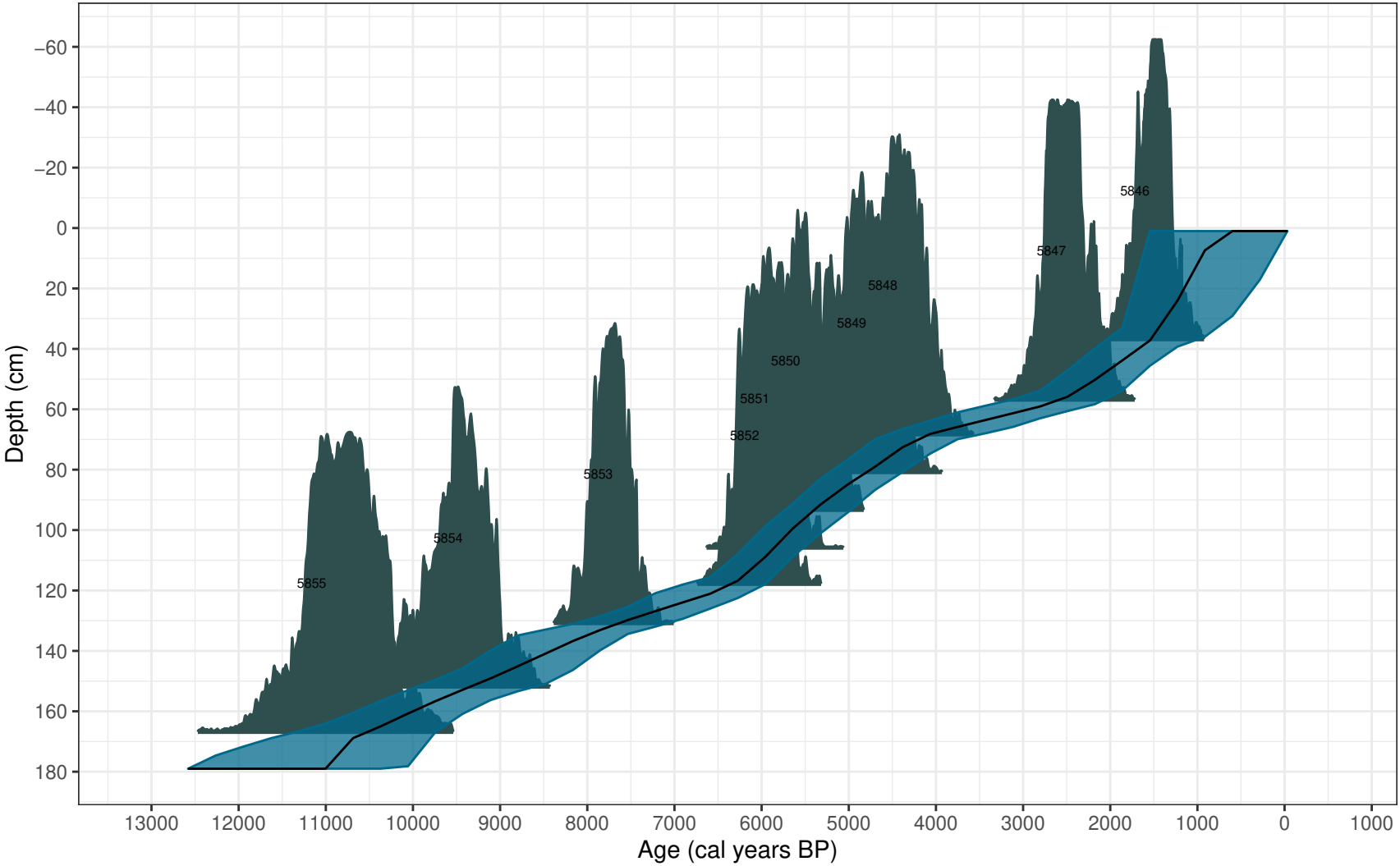

Redstone Lake; Dataset ID 2050

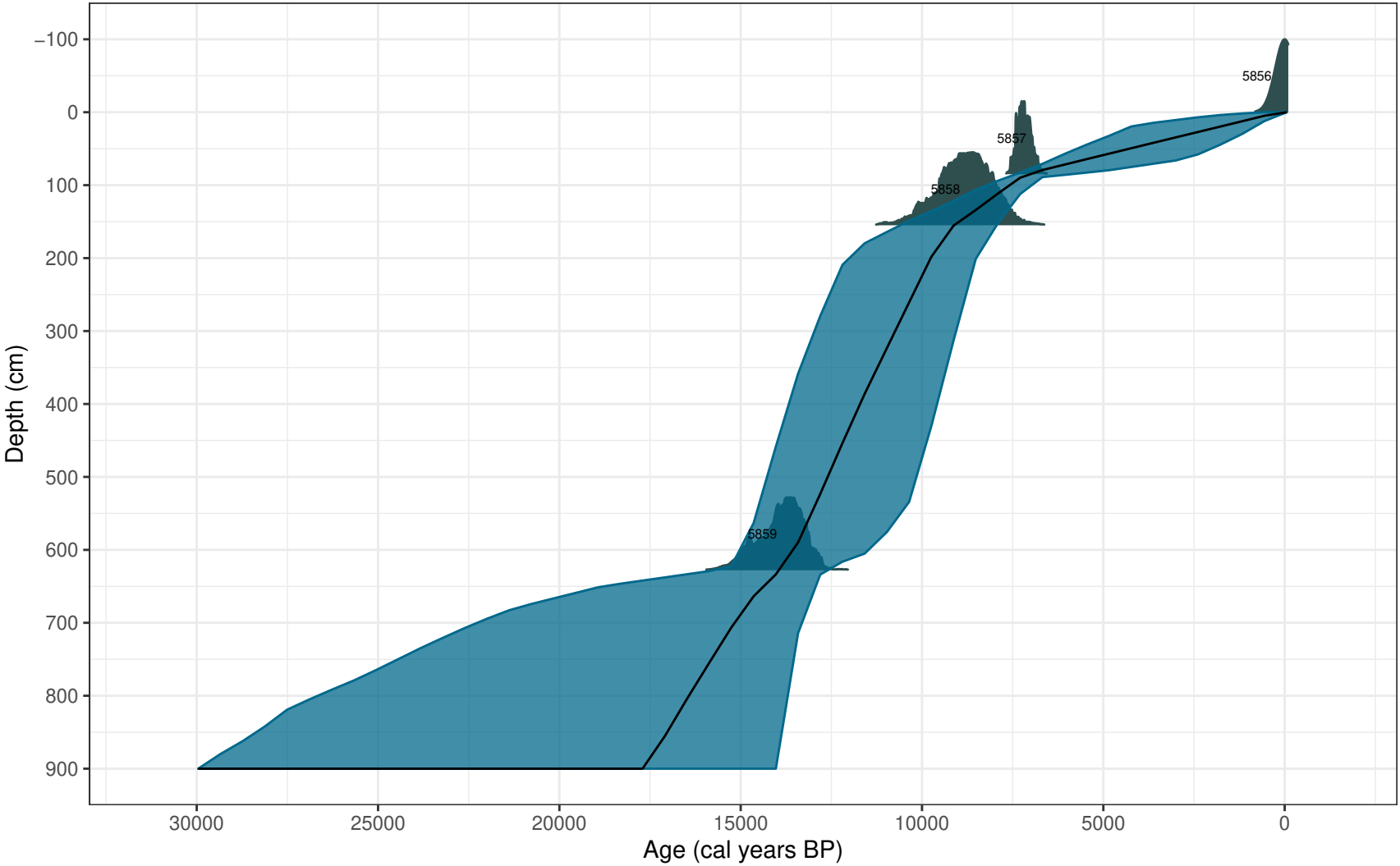

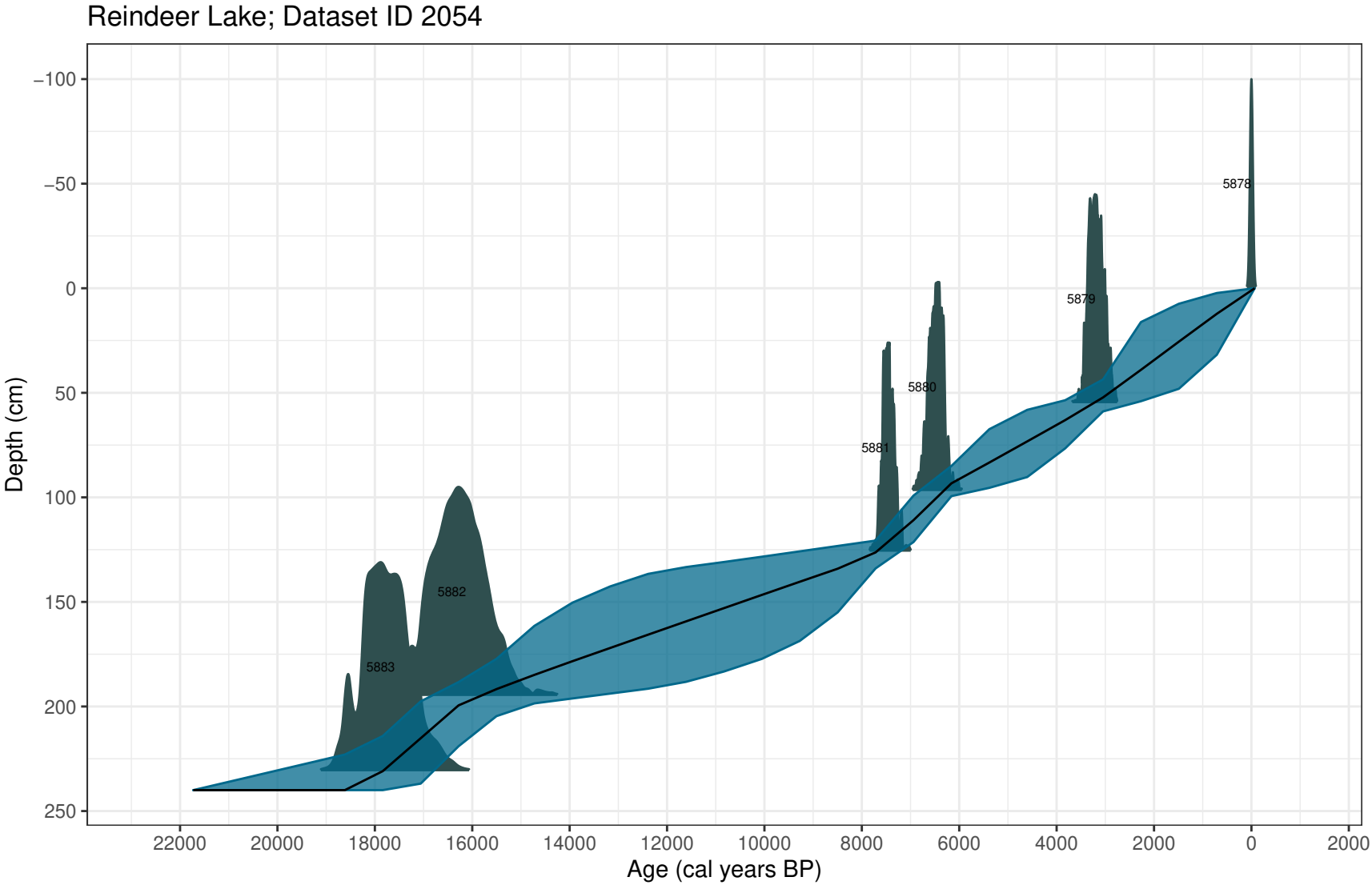
Reindeer Lake; Dataset ID 2054
Depth (cm)
−100
−50
0
50
100
150
200
250
Age (cal years BP)
22000
20000
18000
16000
14000
12000
10000
8000
6000
4000
2000
0
2000
5878
5879
5880
5881
5882
5883

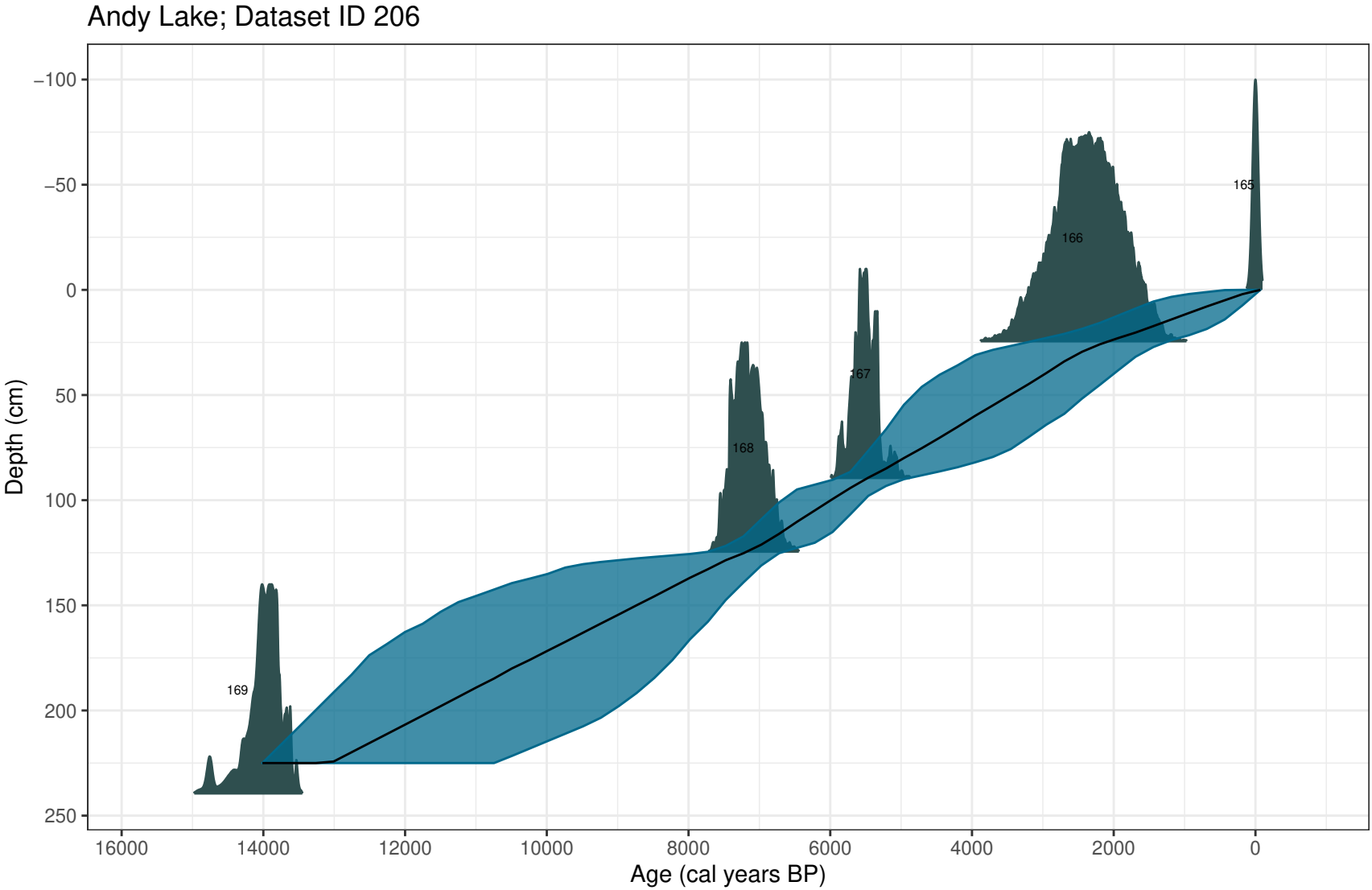
Andy Lake; Dataset ID 206
Depth (cm)
−100
−50
0
50
100
150
200
250
Age (cal years BP)
16000
14000
12000
10000
8000
6000
4000
2000
0
165
166
167
168
169

Chesapeake Bay, Rhode River; Dataset ID 2061

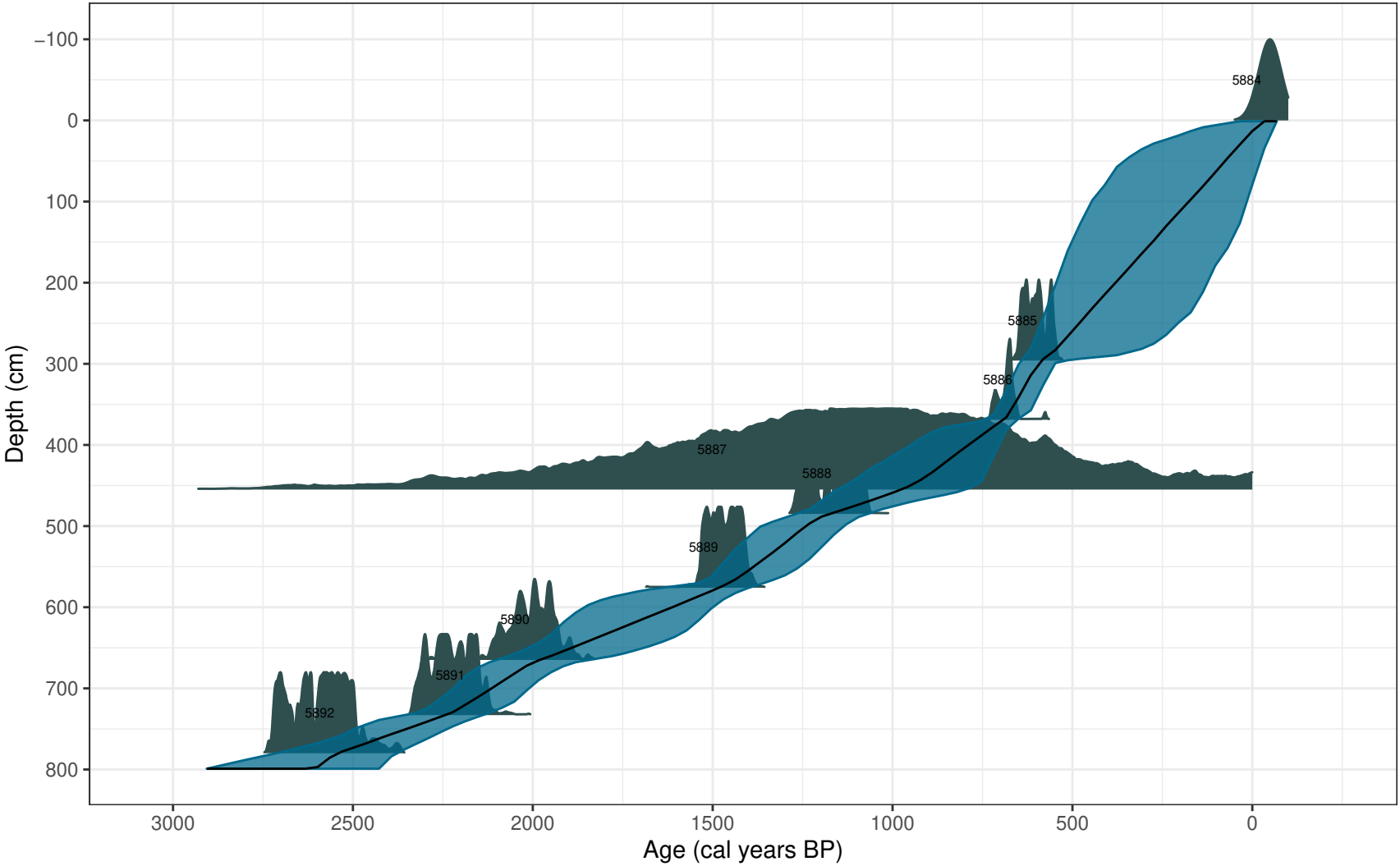

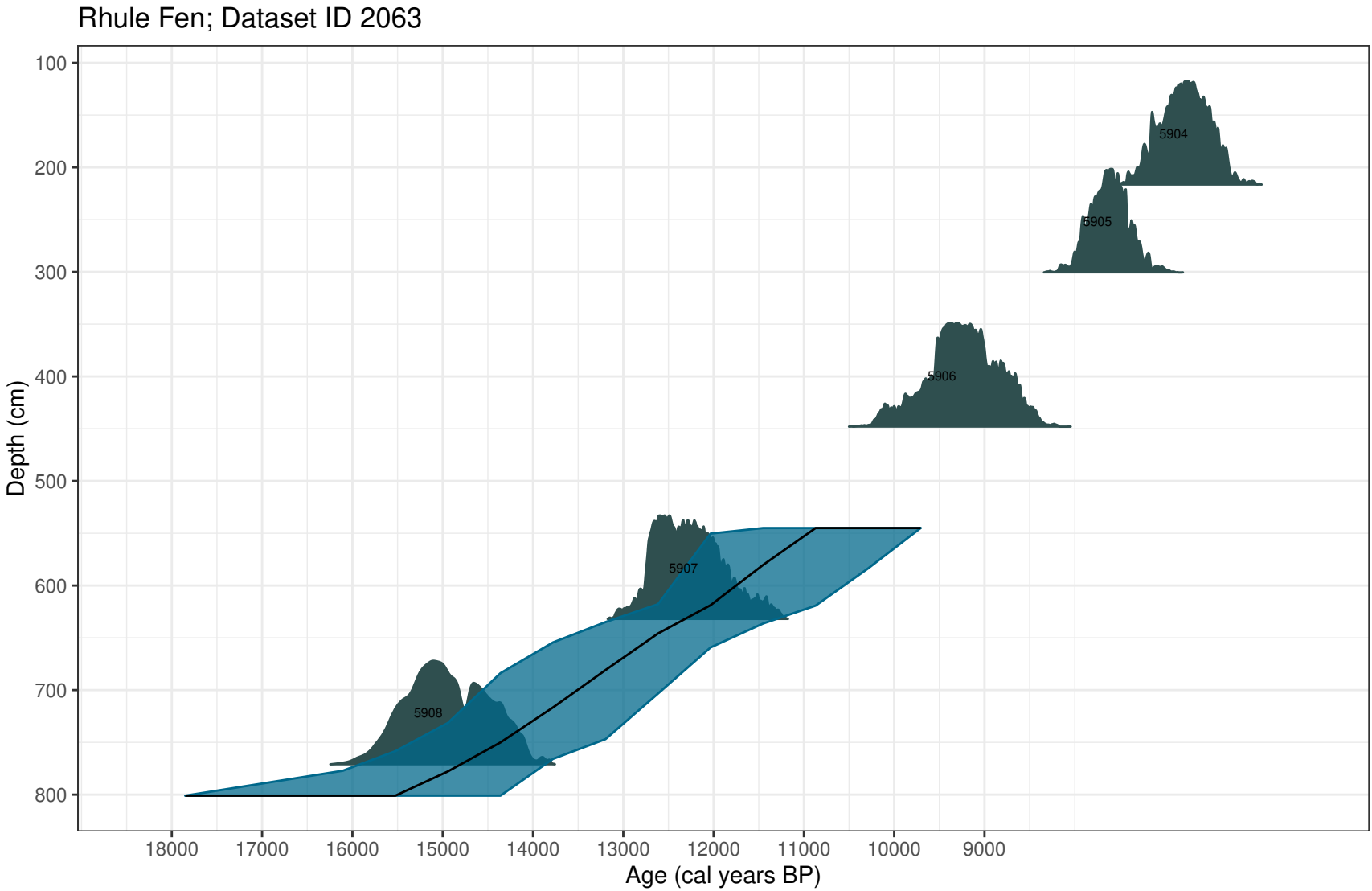
Rhule Fen; Dataset ID 2063
Depth (cm)
100
200
300
400
500
600
700
800
5904
5905
5906
5907
5908
18000
17000
16000
15000
14000
13000
12000
11000
10000
9000
Age (cal years BP)

Rice Lake; Dataset ID 2065

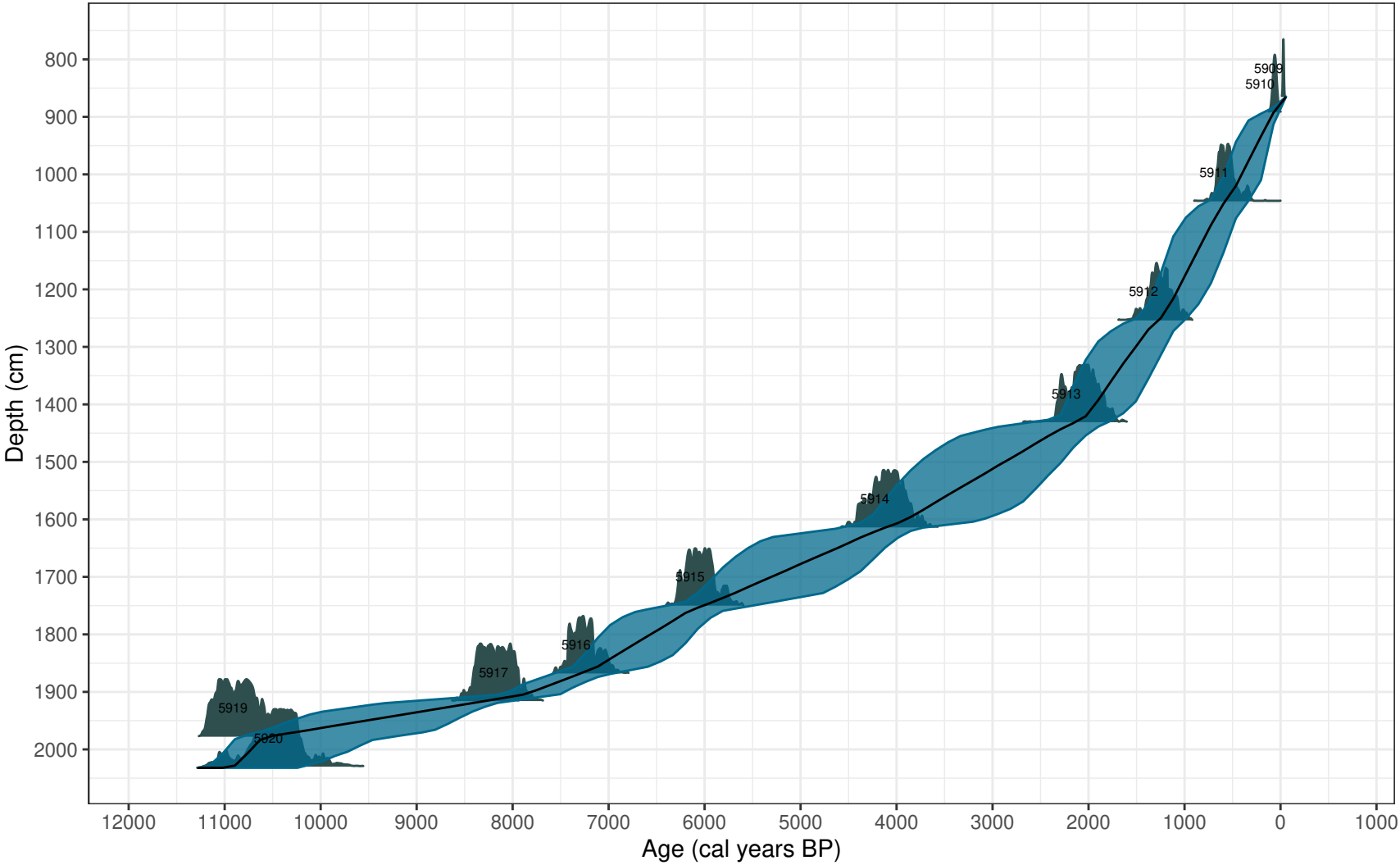

R Lake; Dataset ID 2068

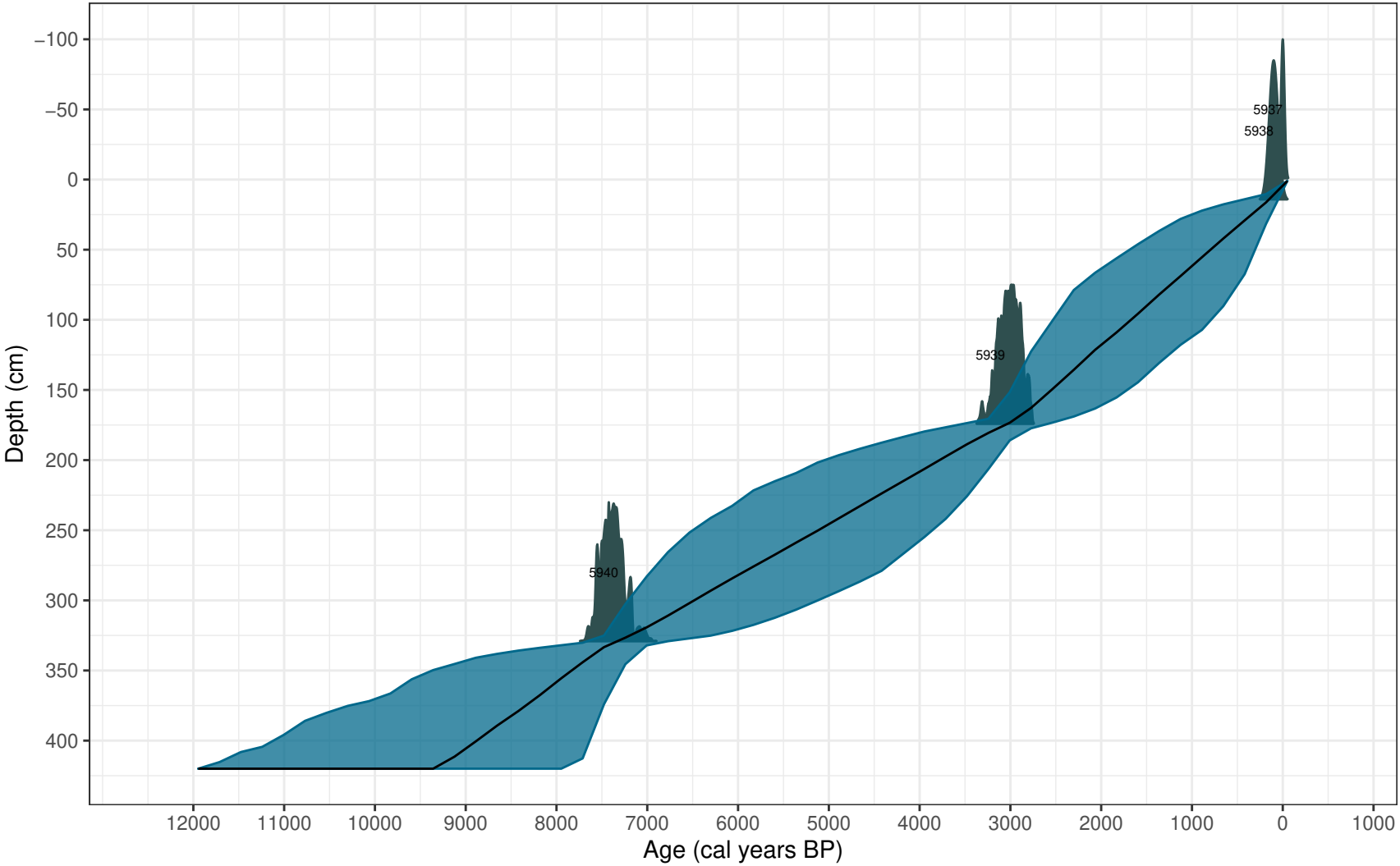

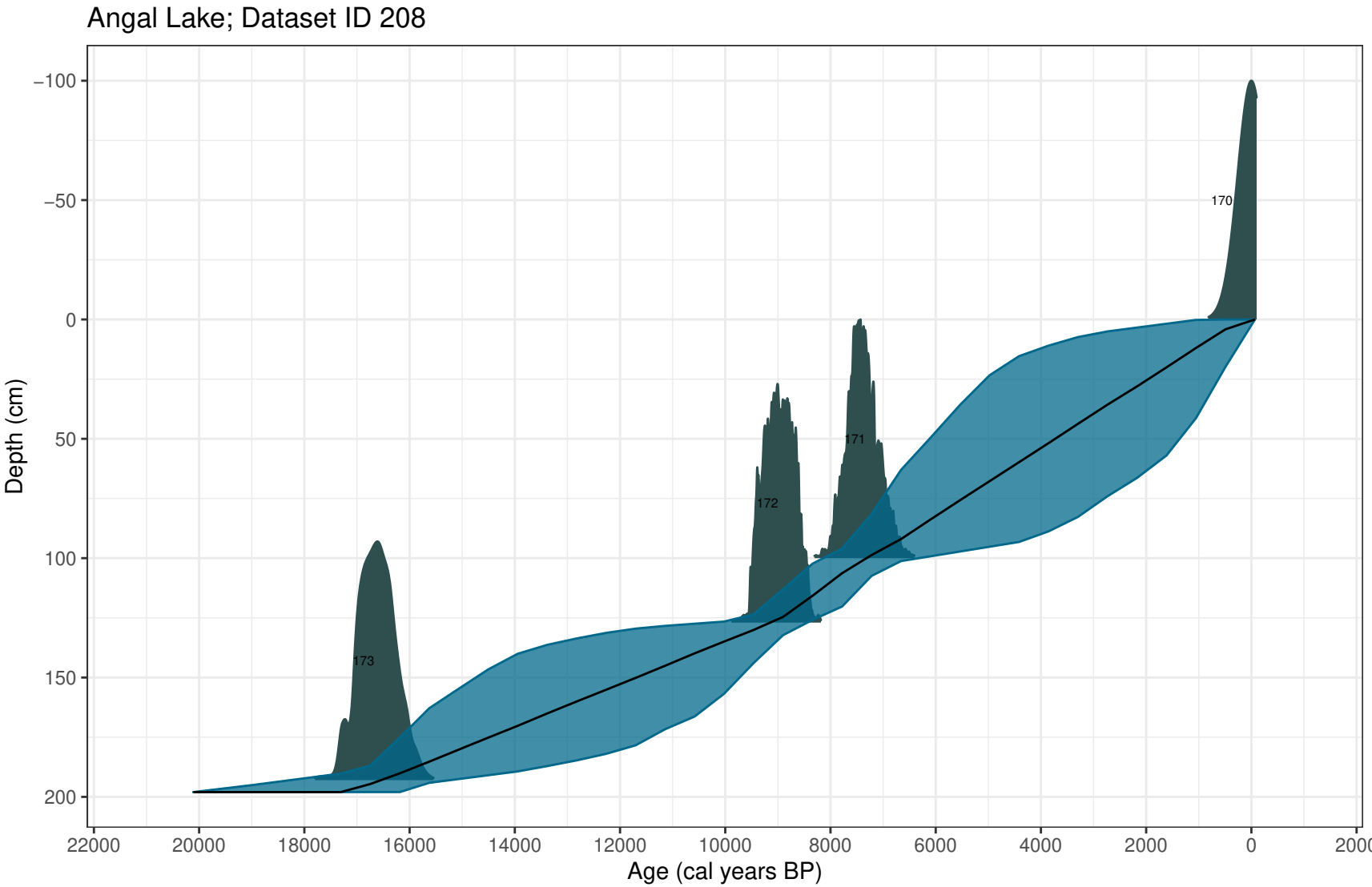
Angal Lake; Dataset ID 208
Depth (cm)
−100
−50
0
50
100
150
200
Age (cal years BP)
22000
20000
18000
16000
14000
12000
10000
8000
6000
4000
2000
0
2000
170
171
172
173

Lac à l'Ange; Dataset ID 209

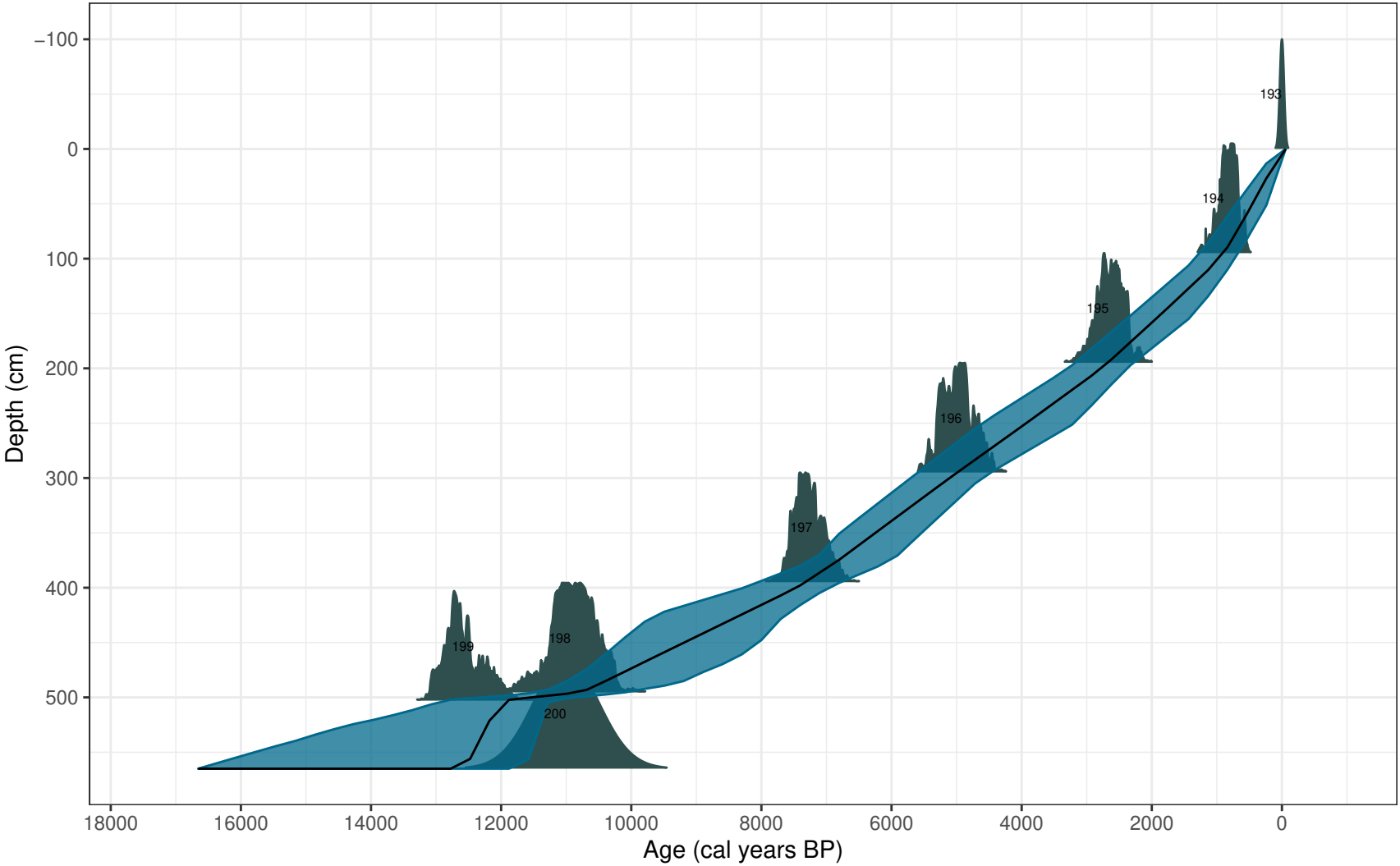

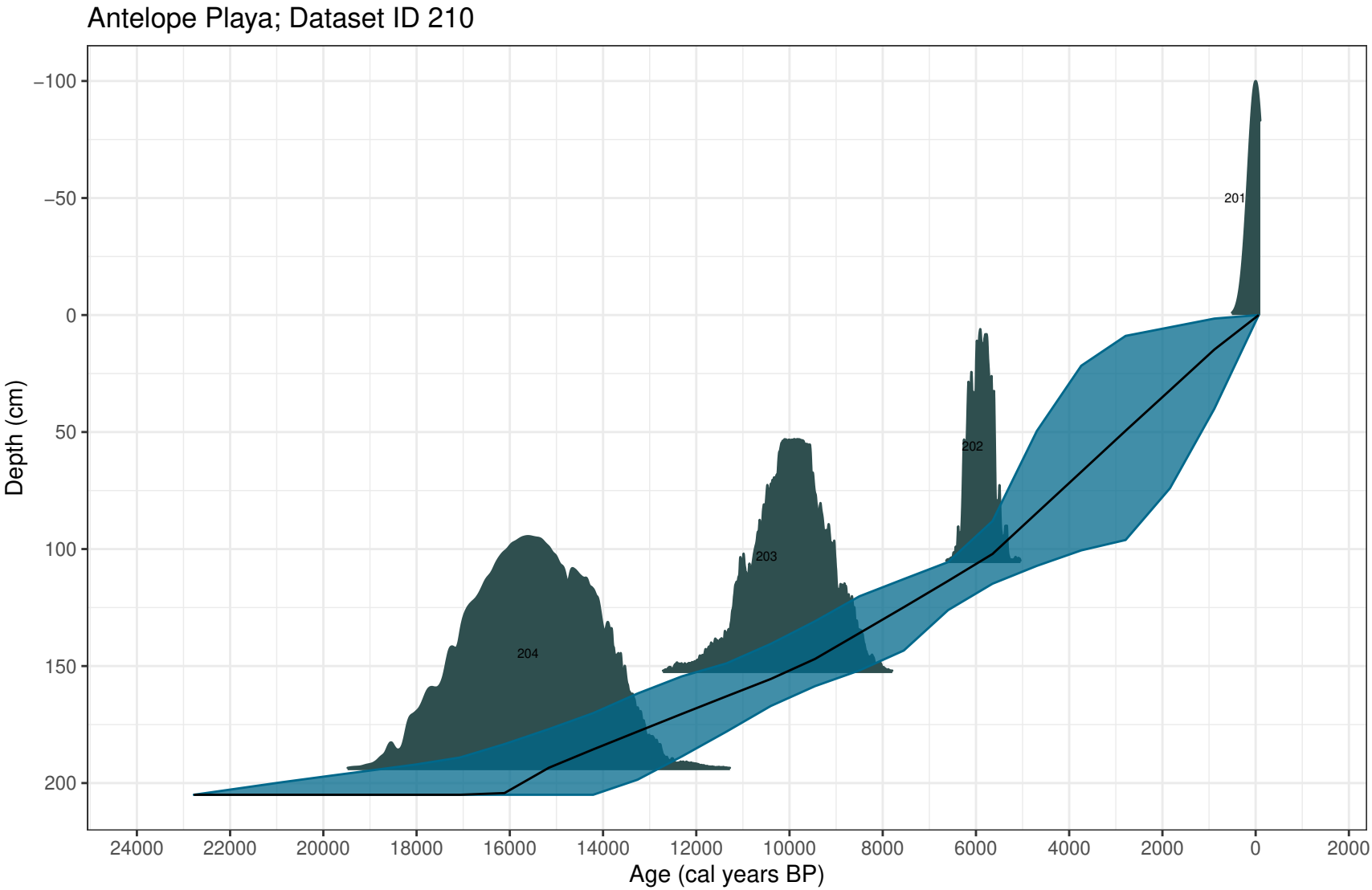
Antelope Playa; Dataset ID 210
Depth (cm)
−100
−50
0
50
100
150
200
Age (cal years BP)
24000
22000
20000
18000
16000
14000
12000
10000
8000
6000
4000
2000
0
2000
201
202
203
204

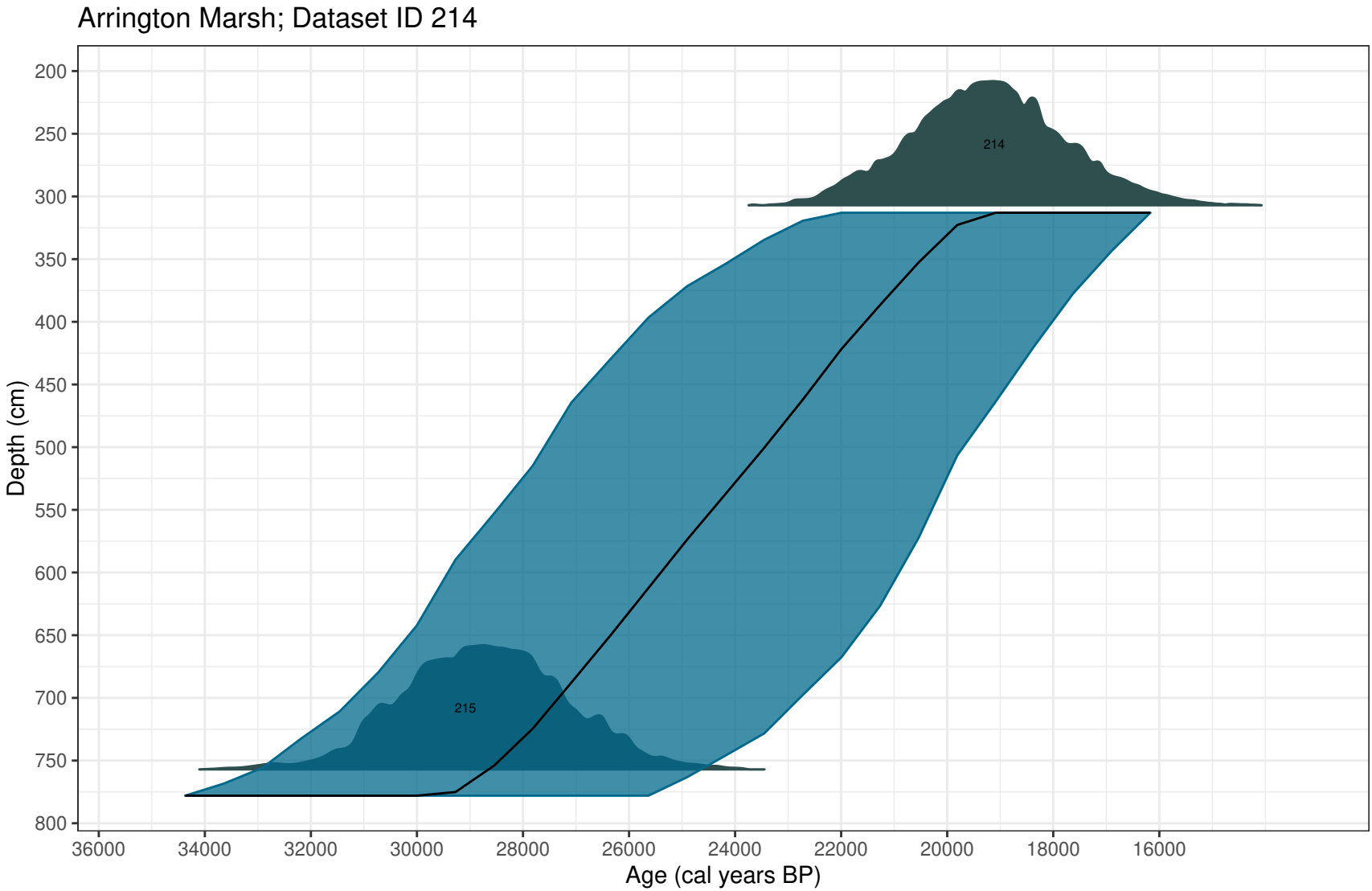
Arrington Marsh; Dataset ID 214
Depth (cm)
200
250
300
350
400
450
500
550
600
650
700
750
800
214
215
36000
34000
32000
30000
28000
26000
24000
22000
20000
18000
16000
Age (cal years BP)

Lac des Atocas; Dataset ID 219

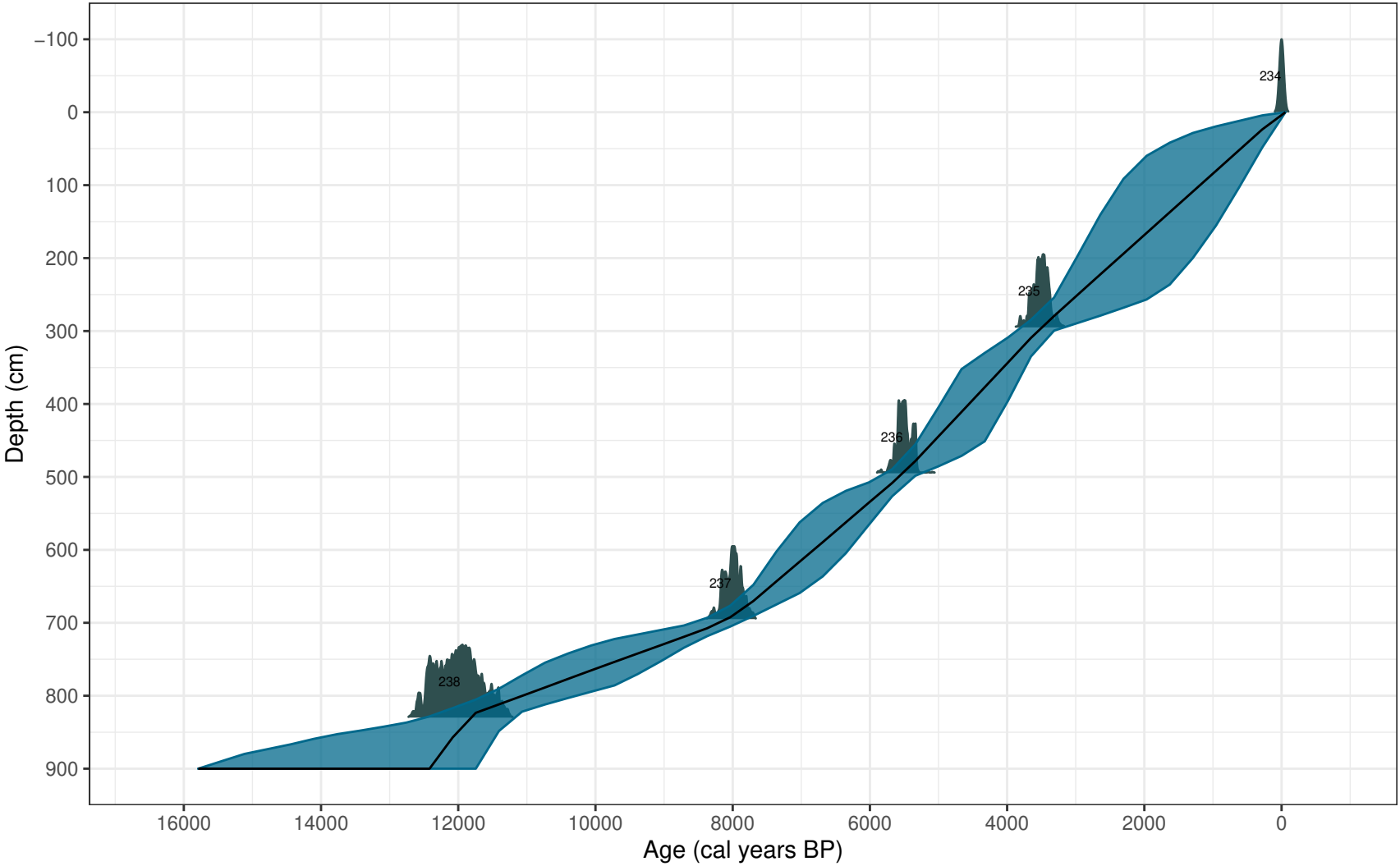

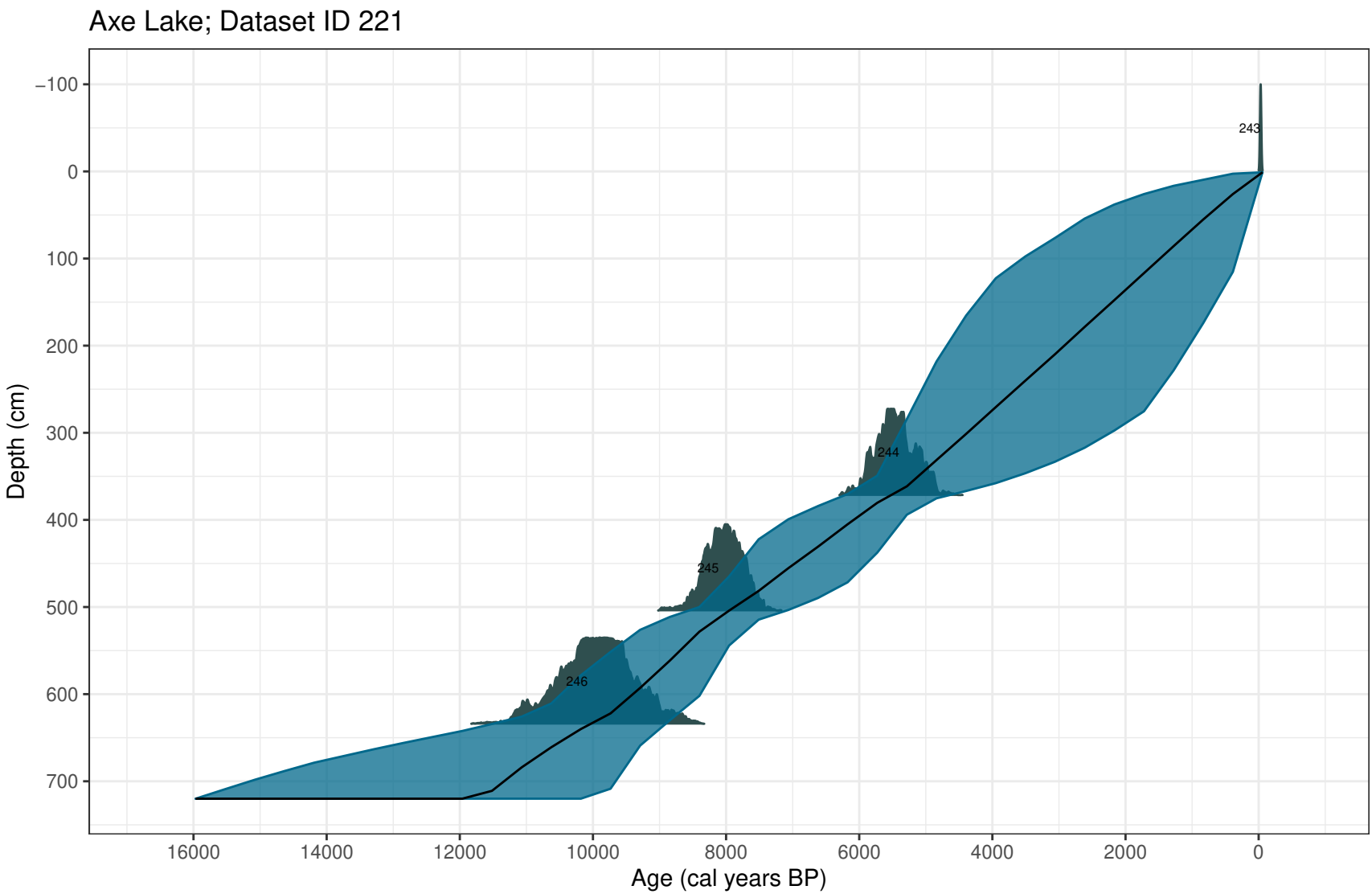
Axe Lake; Dataset ID 221
Depth (cm)
−100
0
100
200
300
400
500
600
700
Age (cal years BP)
16000
14000
12000
10000
8000
6000
4000
2000
0
243
244
245
246

Baird Inlet [Rock Basin Lake]; Dataset ID 224

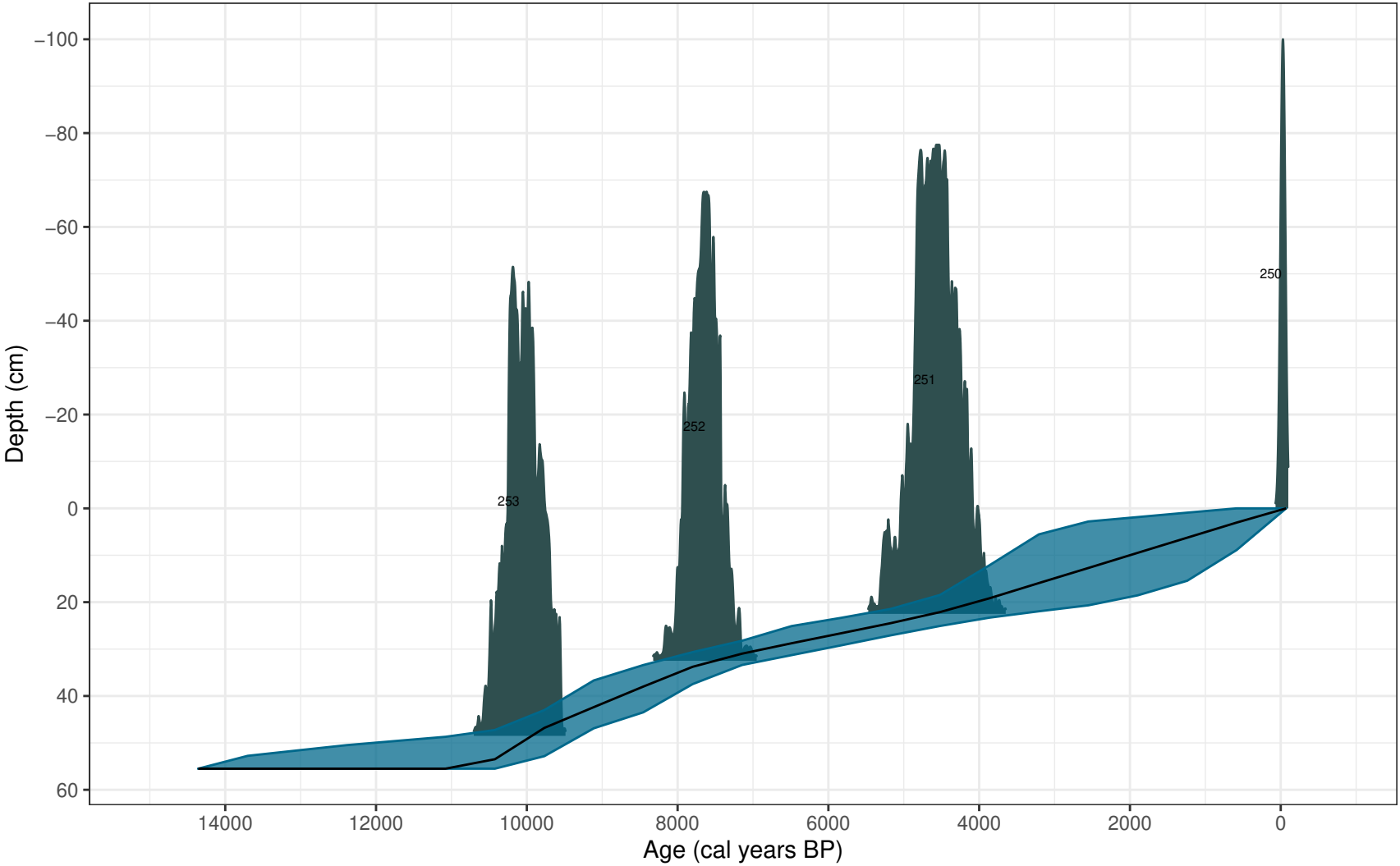

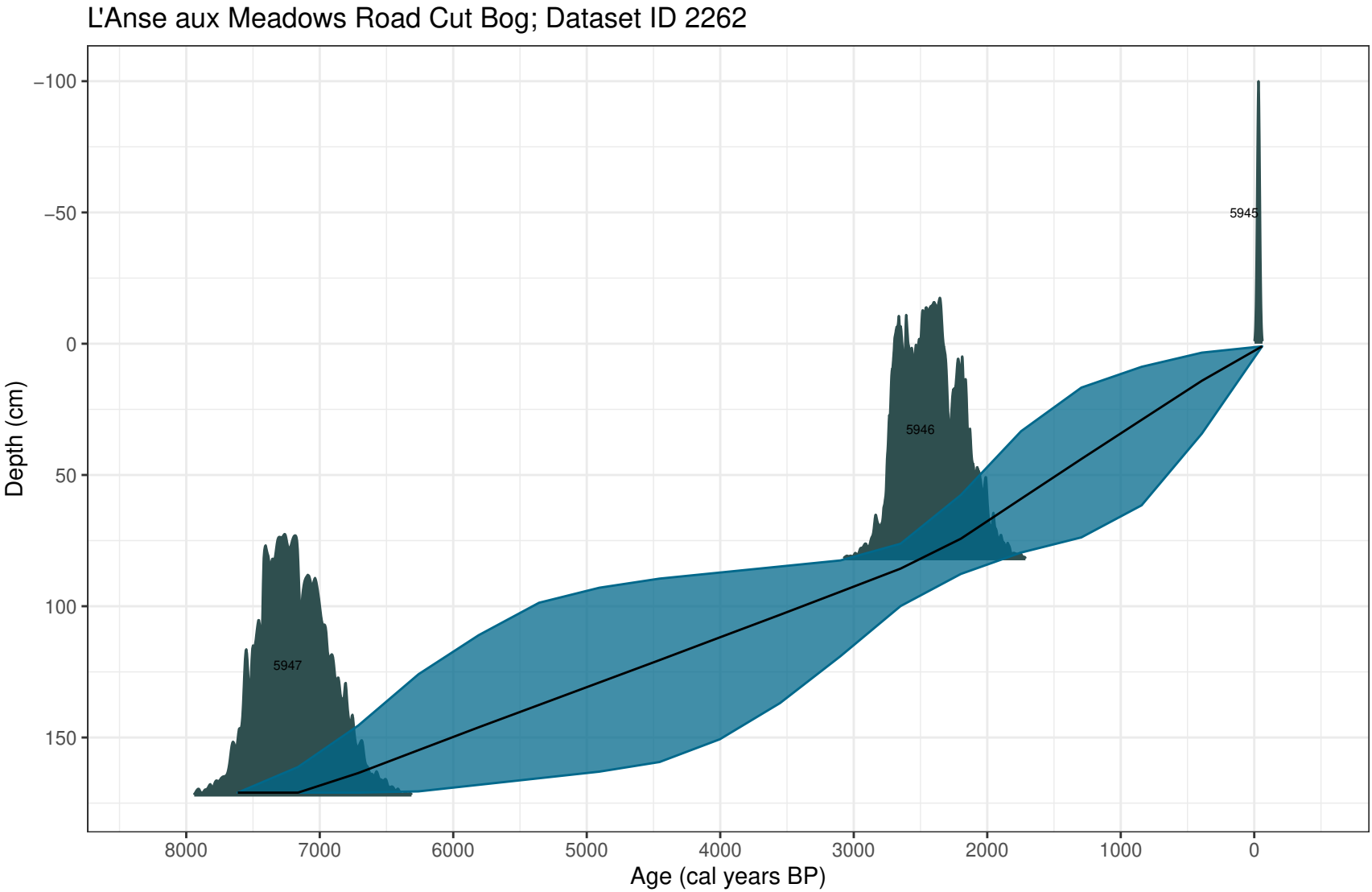
L'Anse aux Meadows Road Cut Bog; Dataset ID 2262
Depth (cm)
−100
−50
0
50
100
150
5945
5946
5947
8000
7000
6000
5000
4000
3000
2000
1000
0
Age (cal years BP)

Lac à Robin; Dataset ID 2265

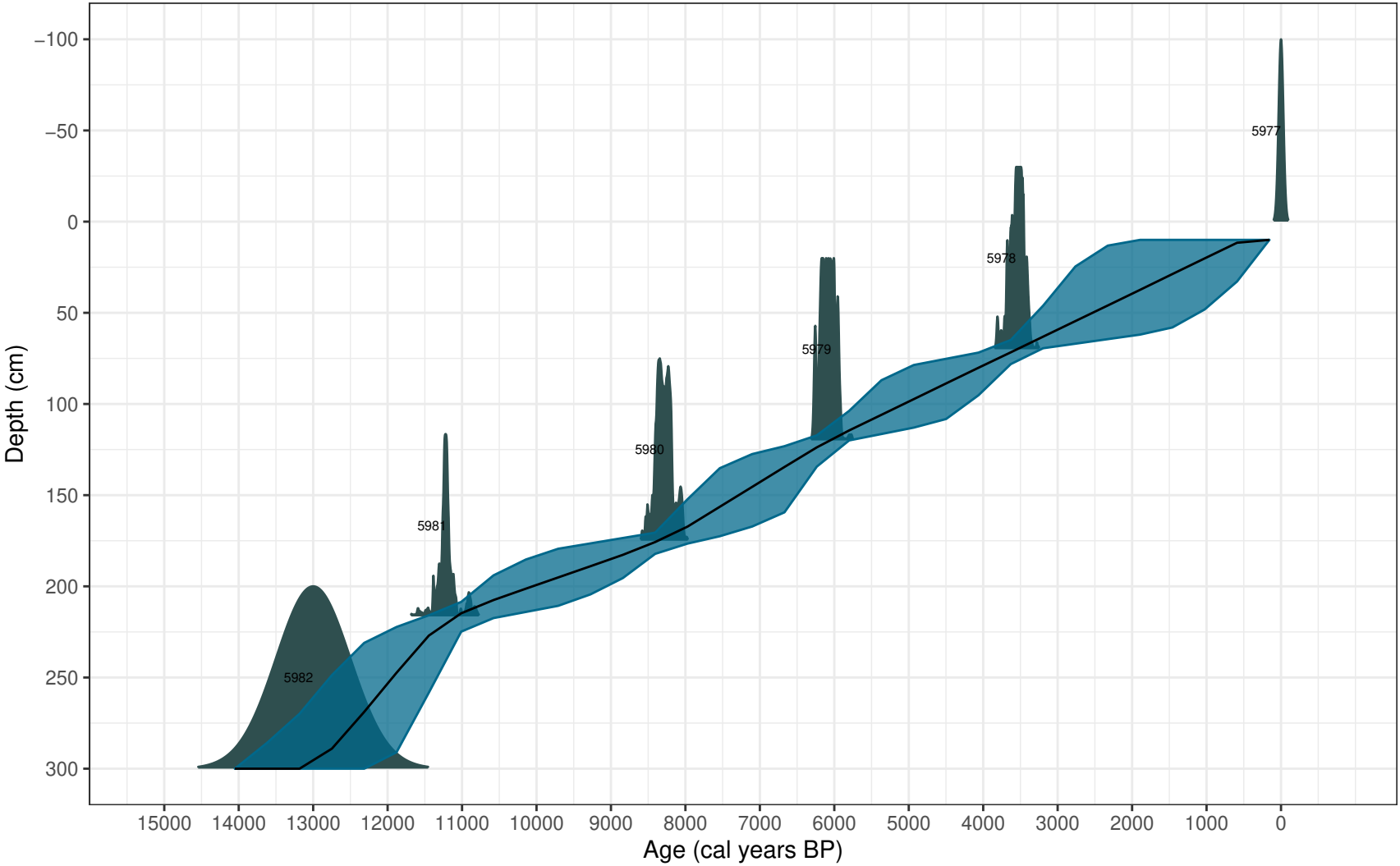

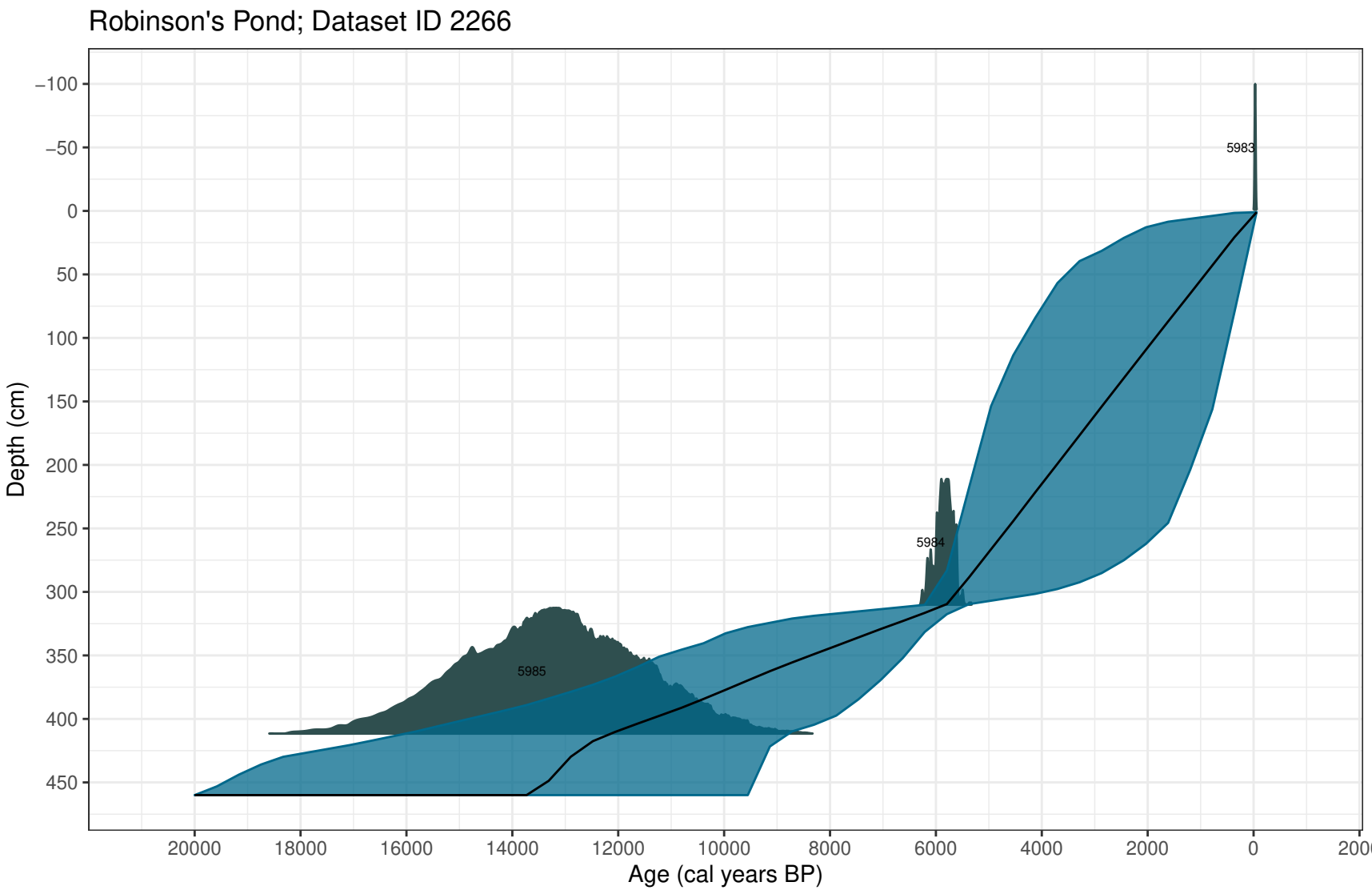
Robinson's Pond; Dataset ID 2266
Depth (cm)
−100
−50
0
50
100
150
200
250
300
350
400
450
5983
5984
5985
20000
18000
16000
14000
12000
10000
8000
6000
4000
2000
0
Age (cal years BP)

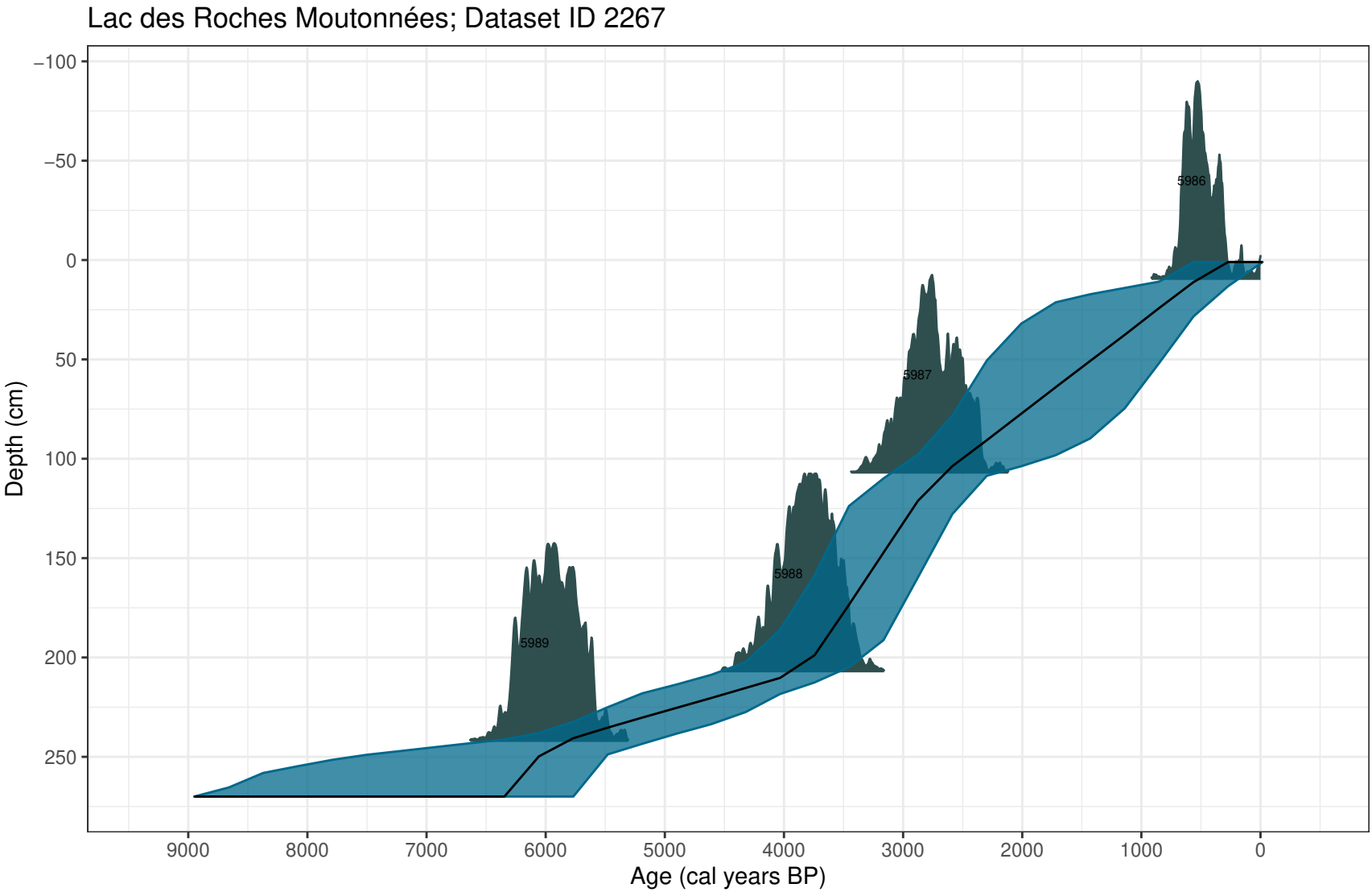
Lac des Roches Moutonnées; Dataset ID 2267
Depth (cm)
−100
−50
0
50
100
150
200
250
5986
5987
5988
5989
9000
8000
7000
6000
5000
4000
3000
2000
1000
0
Age (cal years BP)

Rogers Lake; Dataset ID 2270

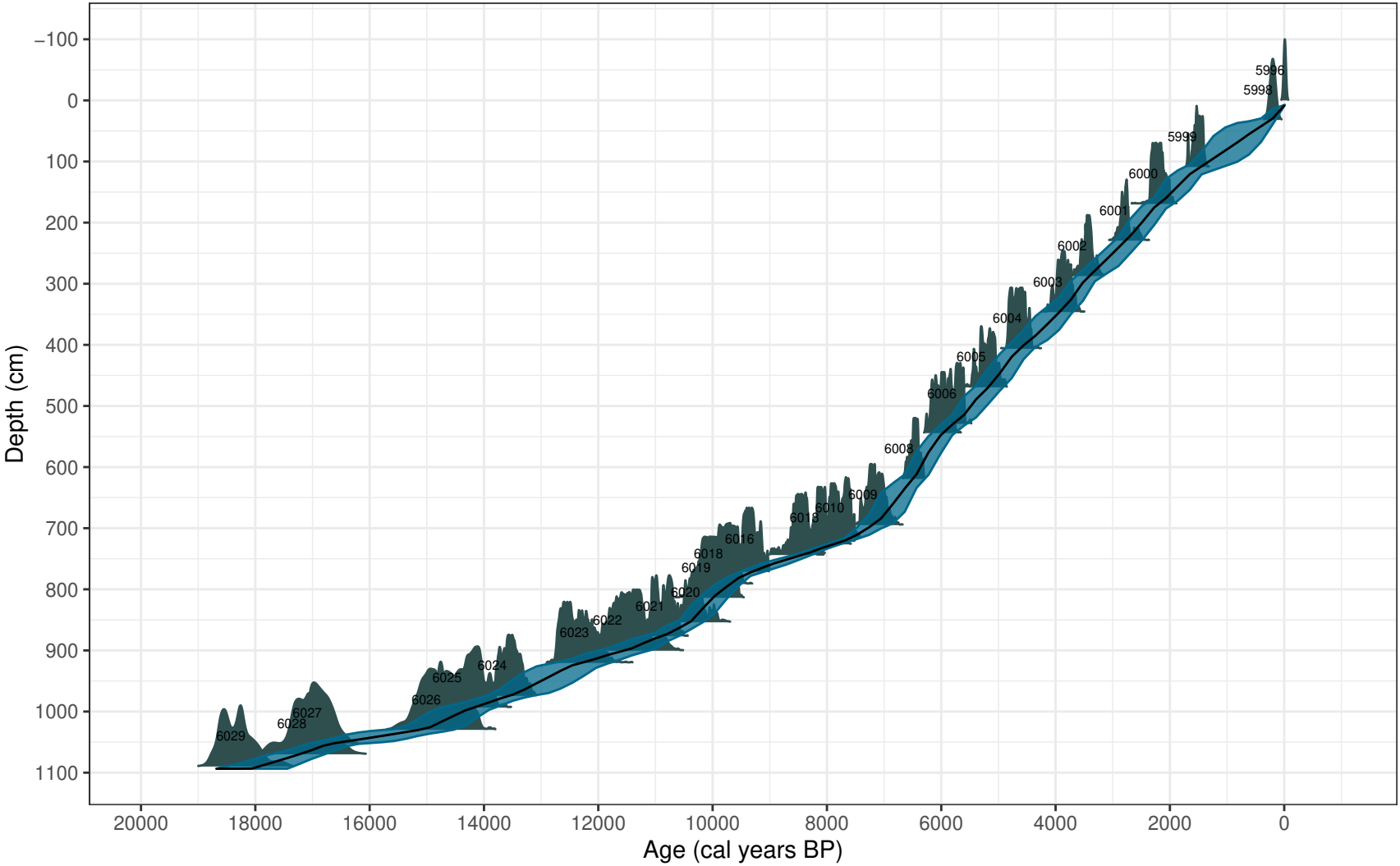

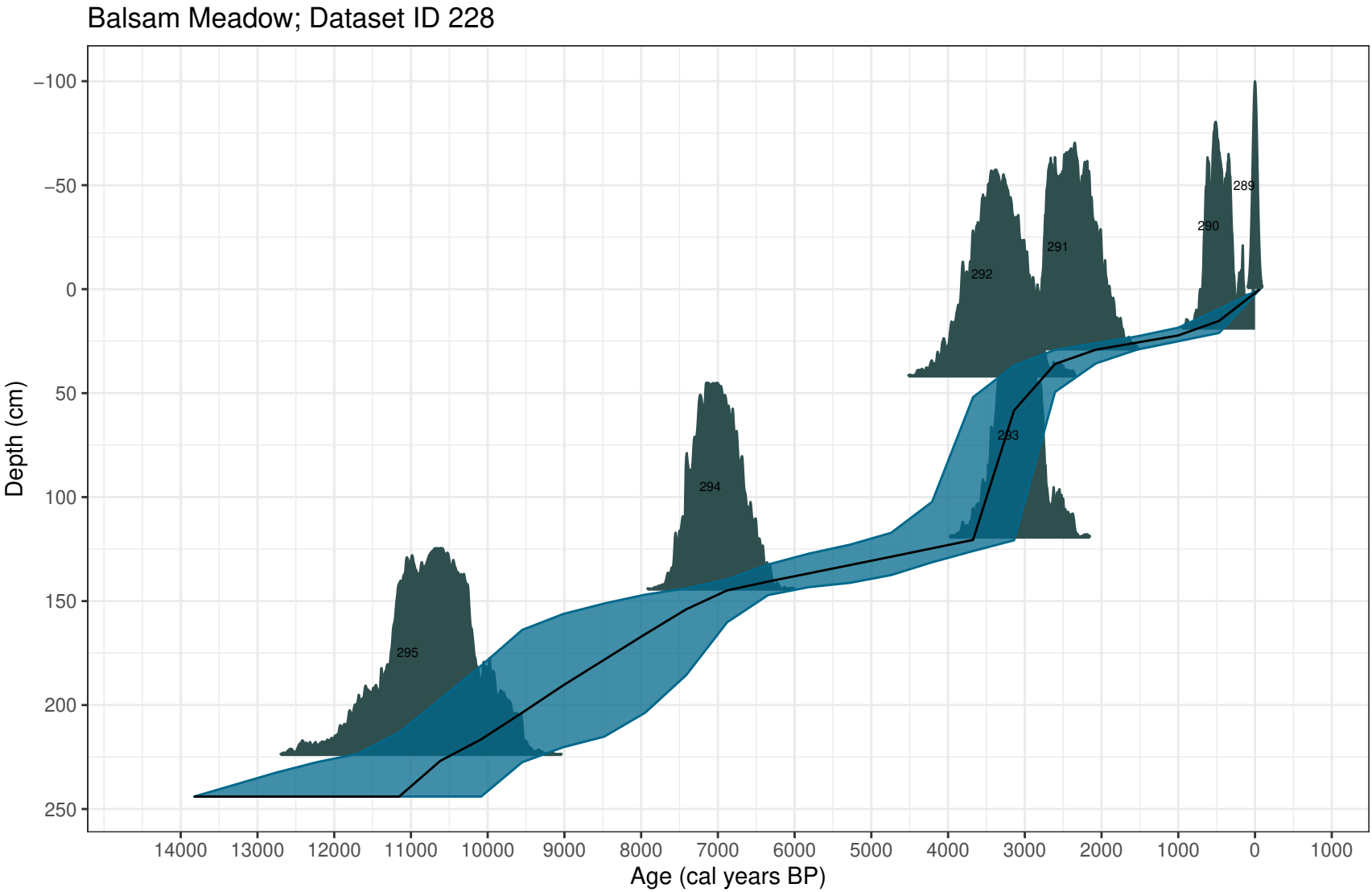
Balsam Meadow; Dataset ID 228
Depth (cm)
−100
−50
0
50
100
150
200
250
Age (cal years BP)
14000
13000
12000
11000
10000
9000
8000
7000
6000
5000
4000
3000
2000
1000
0
1000
289
290
291
292
293
294
295

Lac Romer; Dataset ID 2286

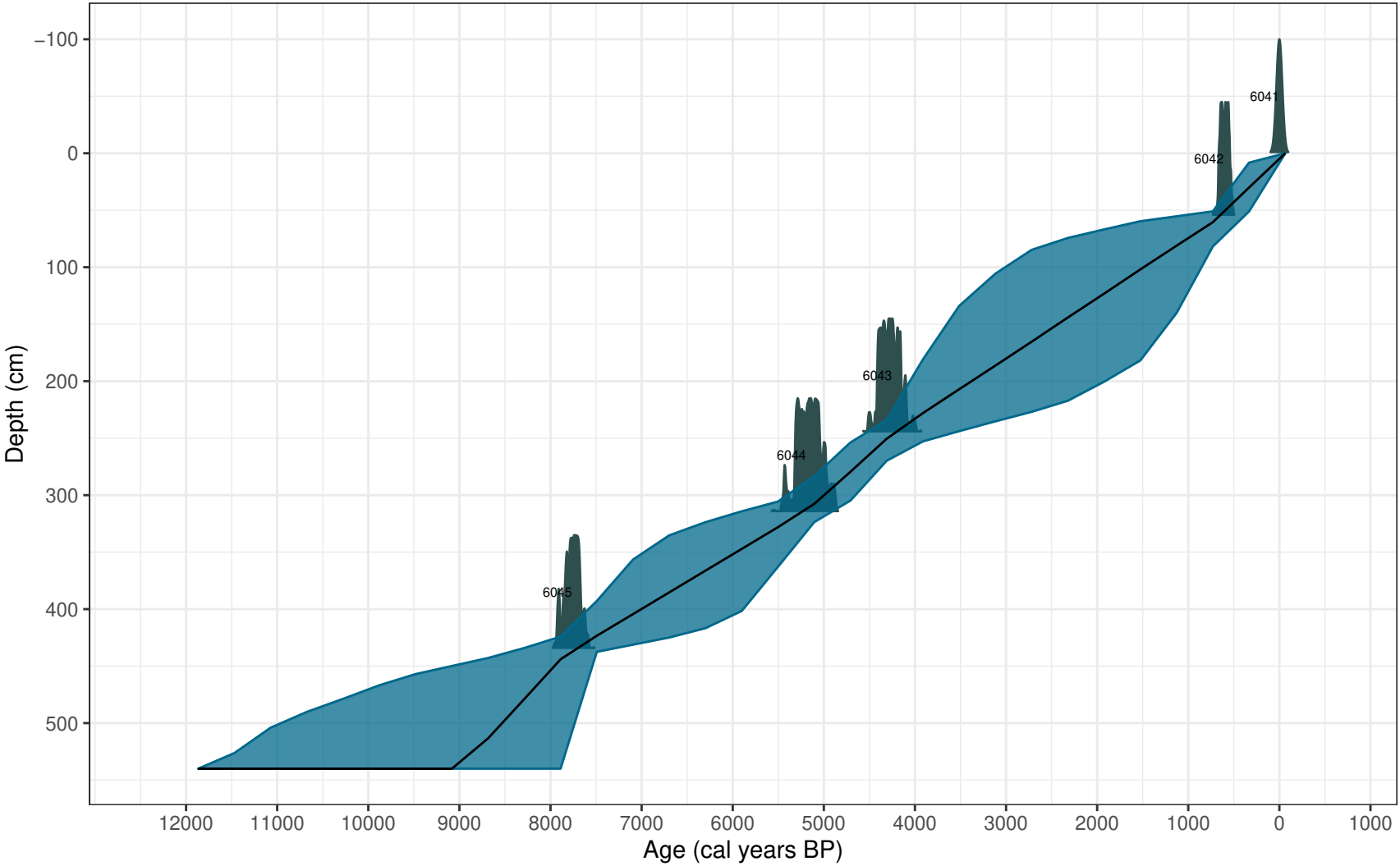

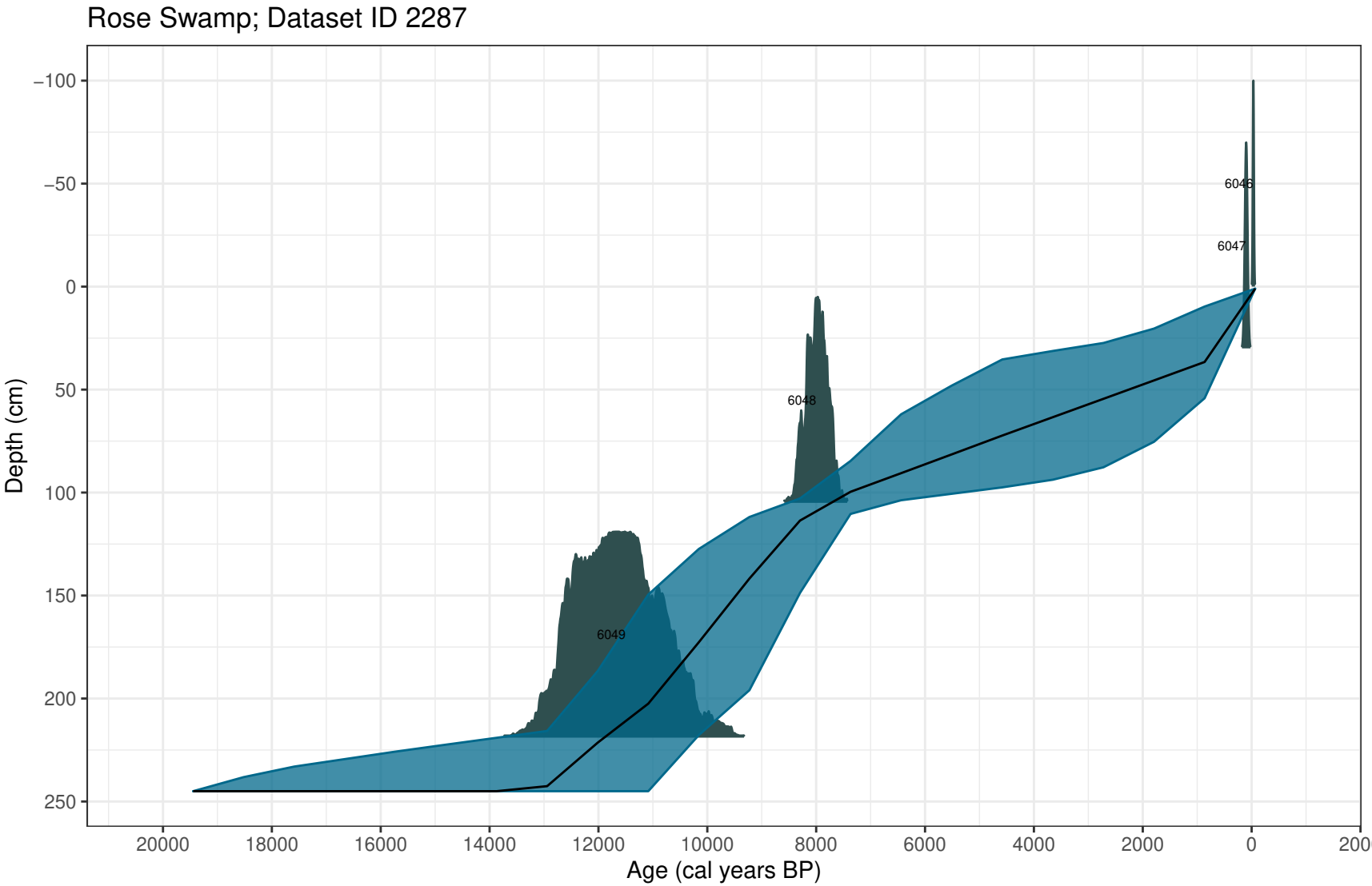
Rose Swamp; Dataset ID 2287
Depth (cm)
−100
−50
0
50
100
150
200
250
6046
6047
6048
6049
20000
18000
16000
14000
12000
10000
8000
6000
4000
2000
0
200
Age (cal years BP)

Rosebud; Dataset ID 2288

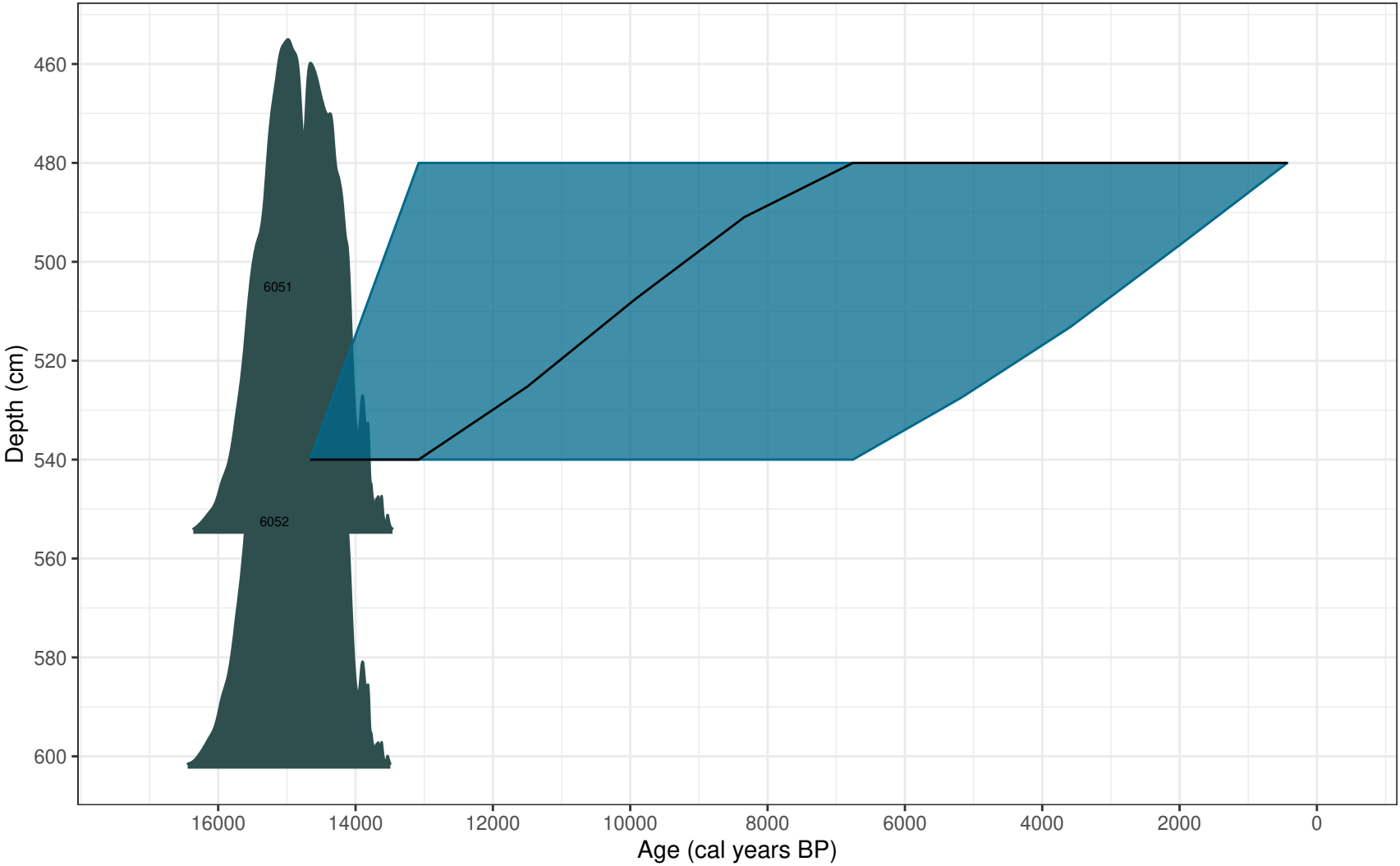

Rose Lake; Dataset ID 2289

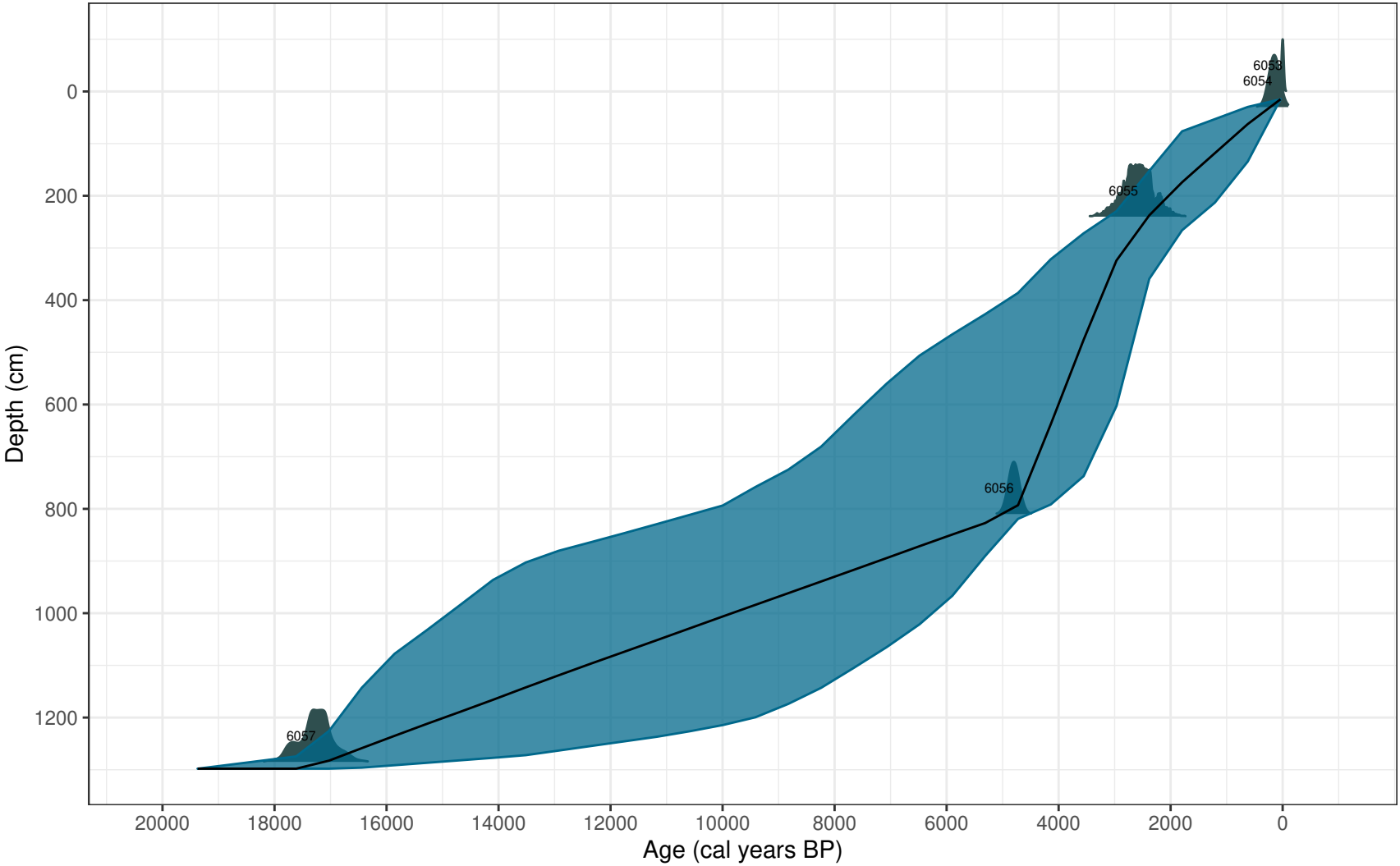

Ross Pond; Dataset ID 2292

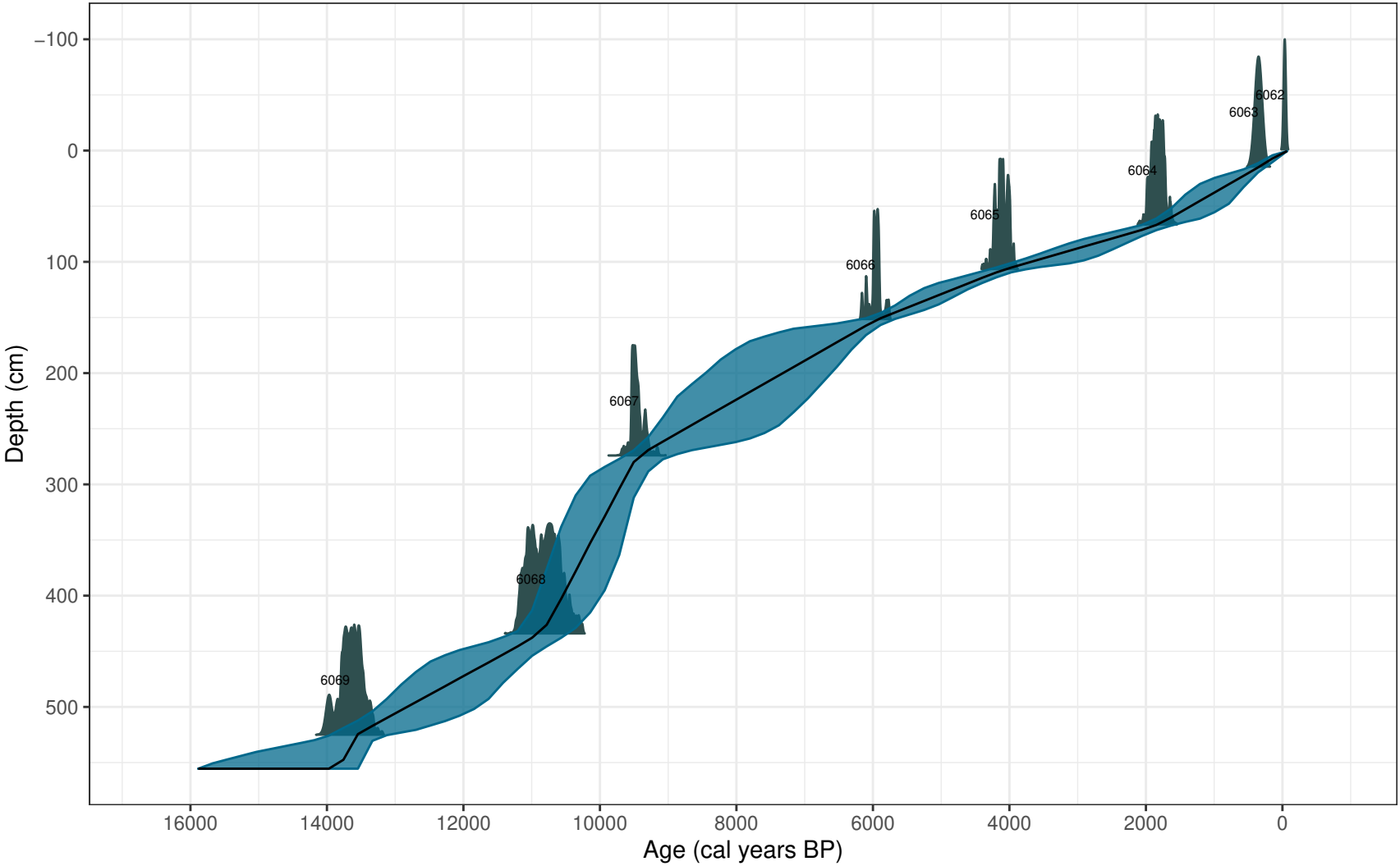

Rostock Mammoth Site; Dataset ID 2293

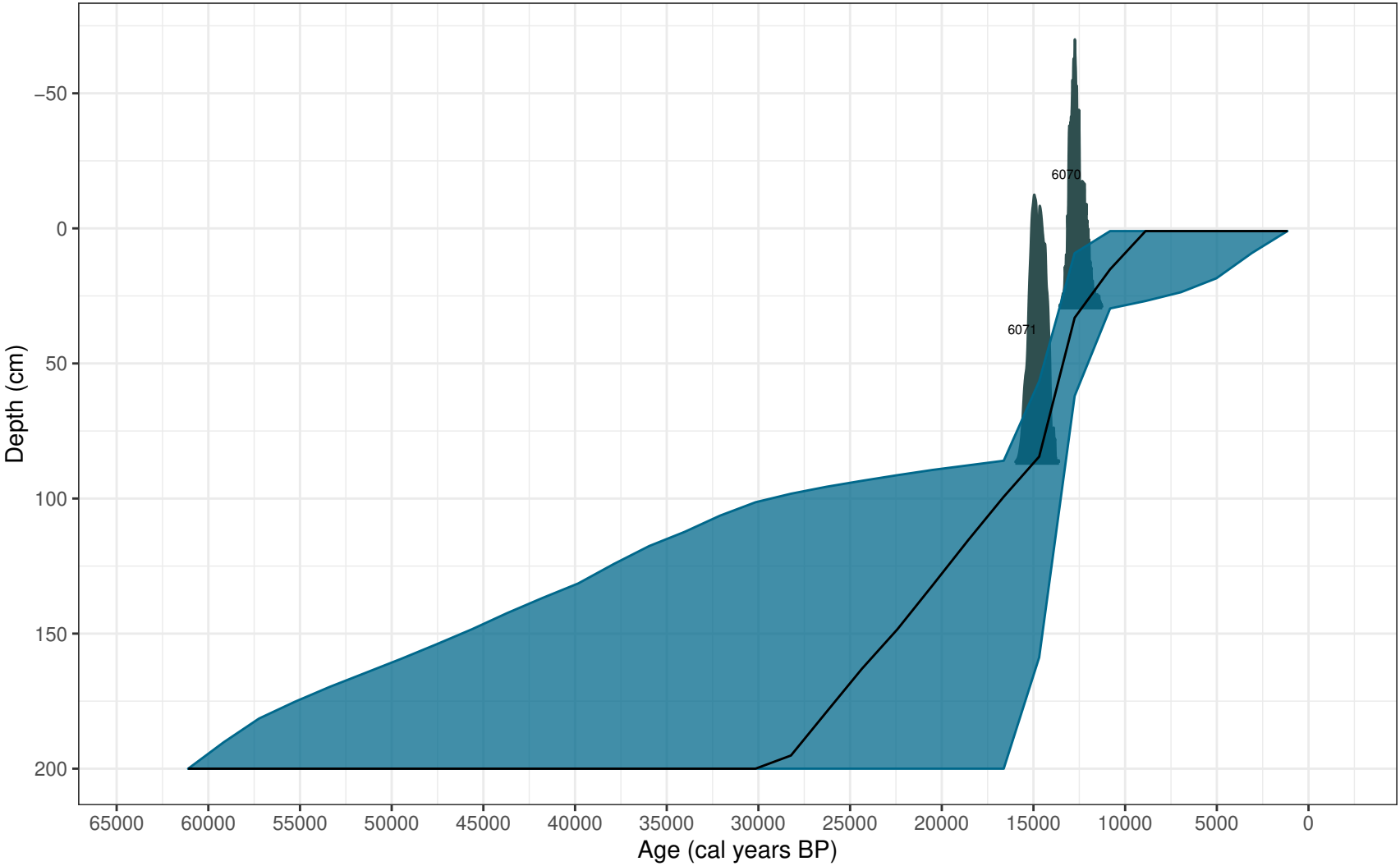

Lake RS29; Dataset ID 2297

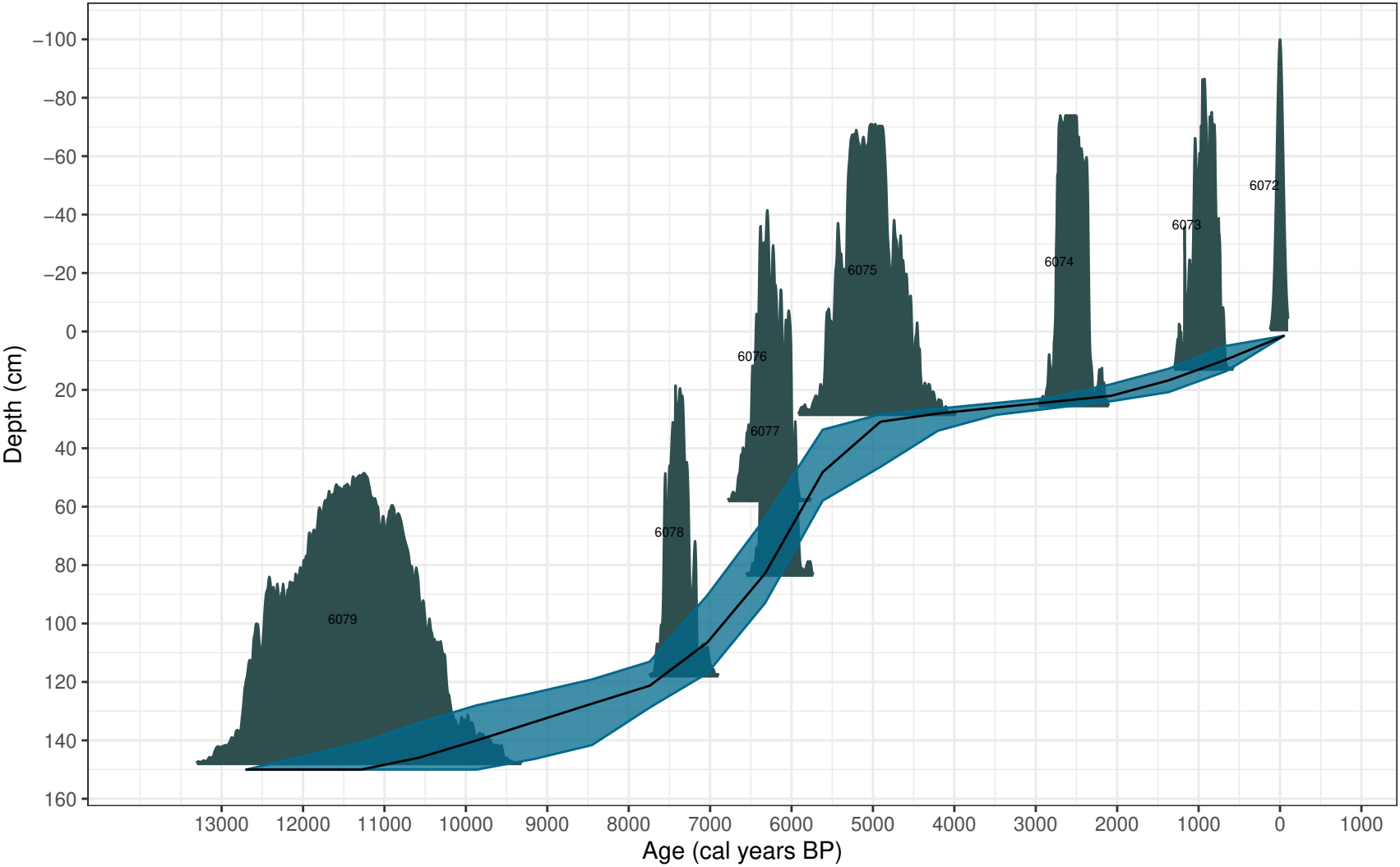

Lake RS36; Dataset ID 2303

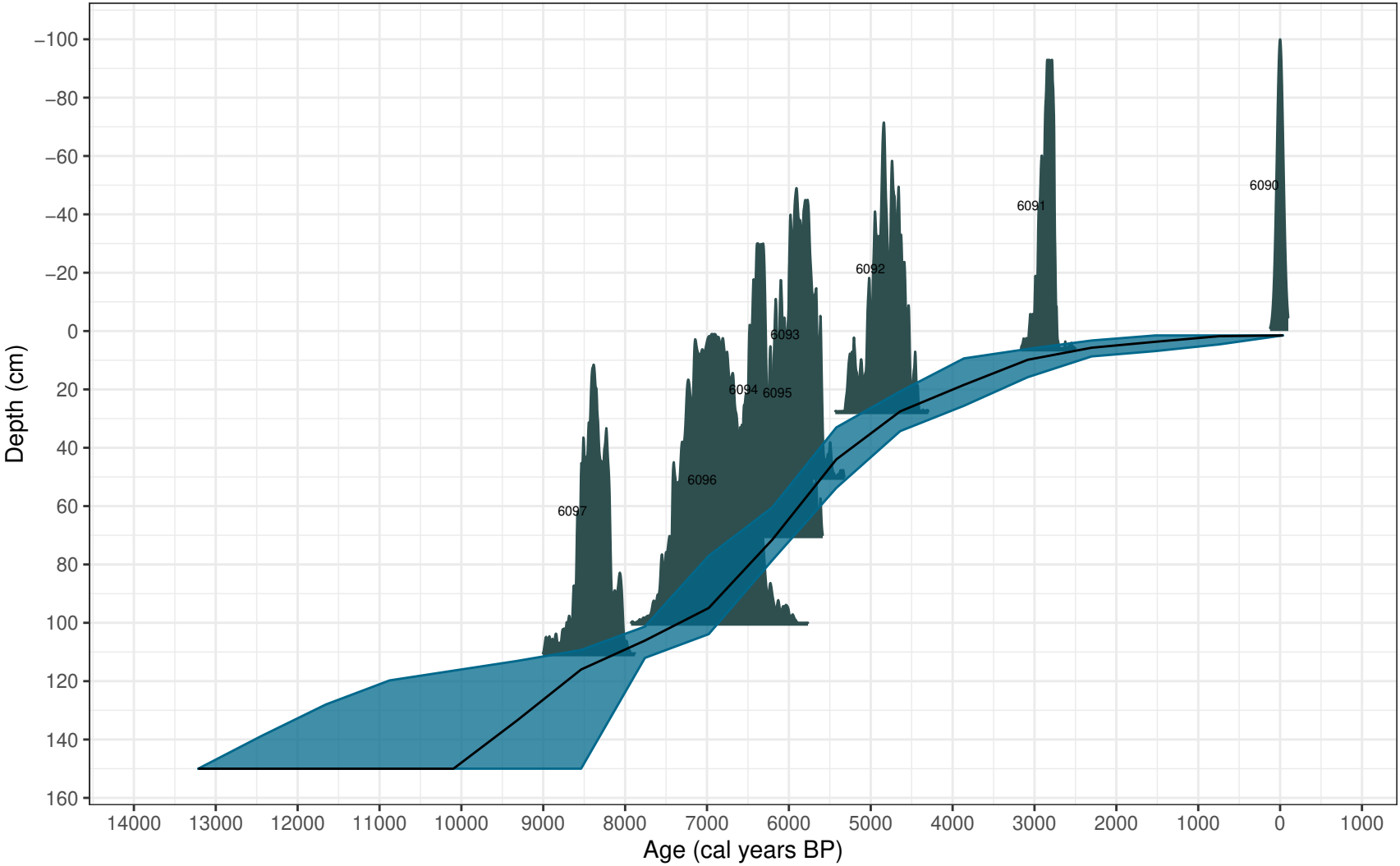

Ruby Lake; Dataset ID 2309

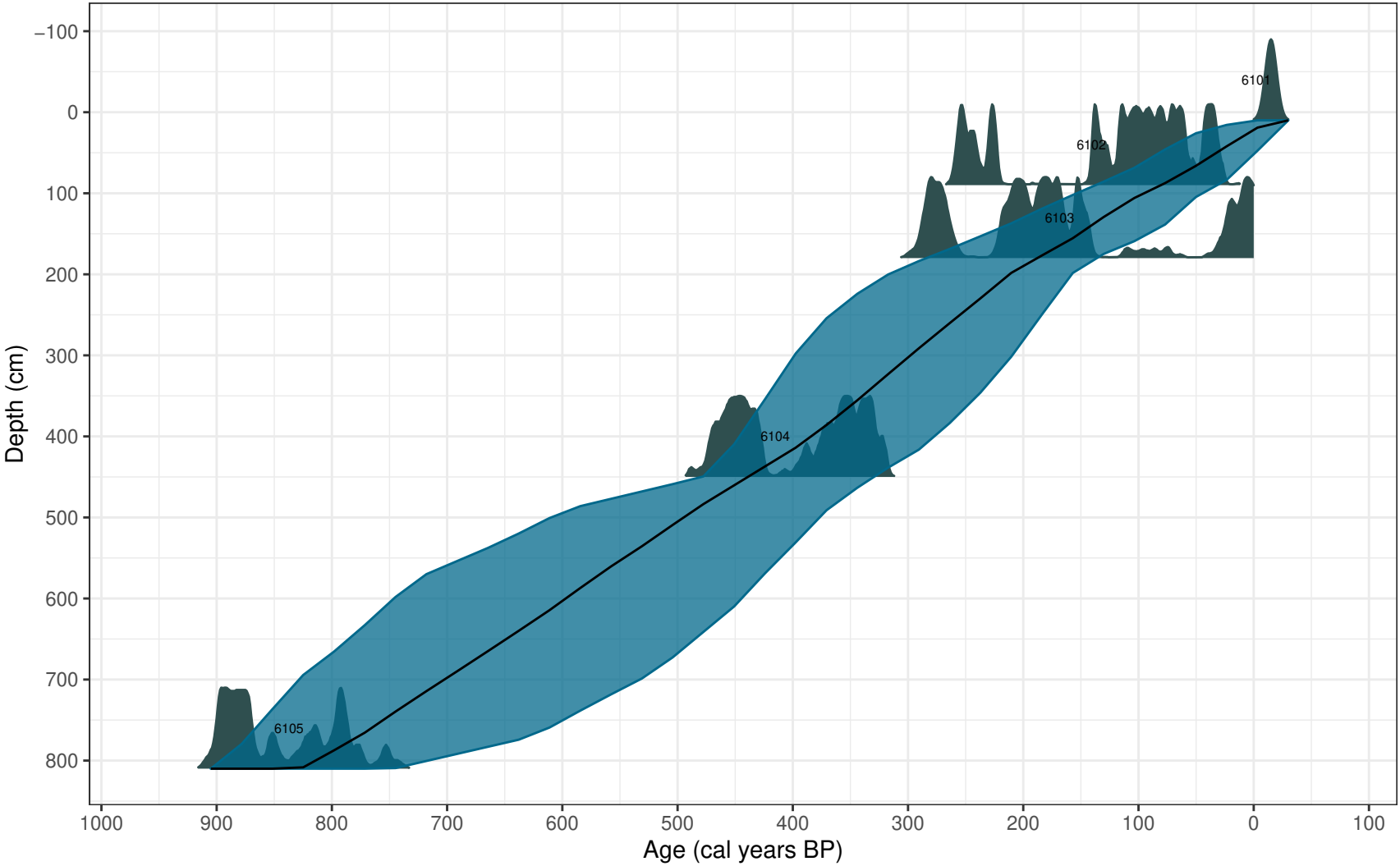

Ruppert Lake; Dataset ID 2311

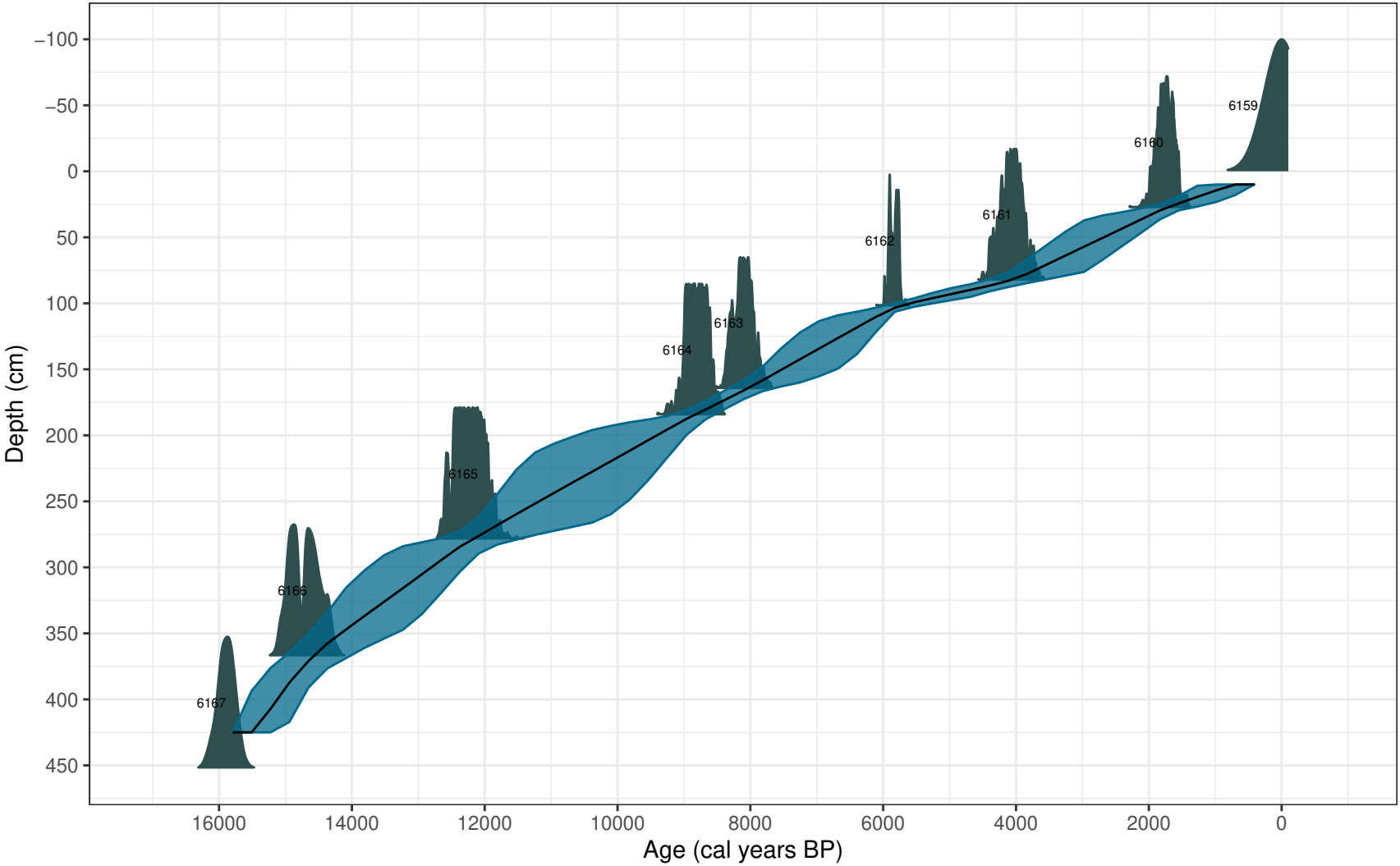

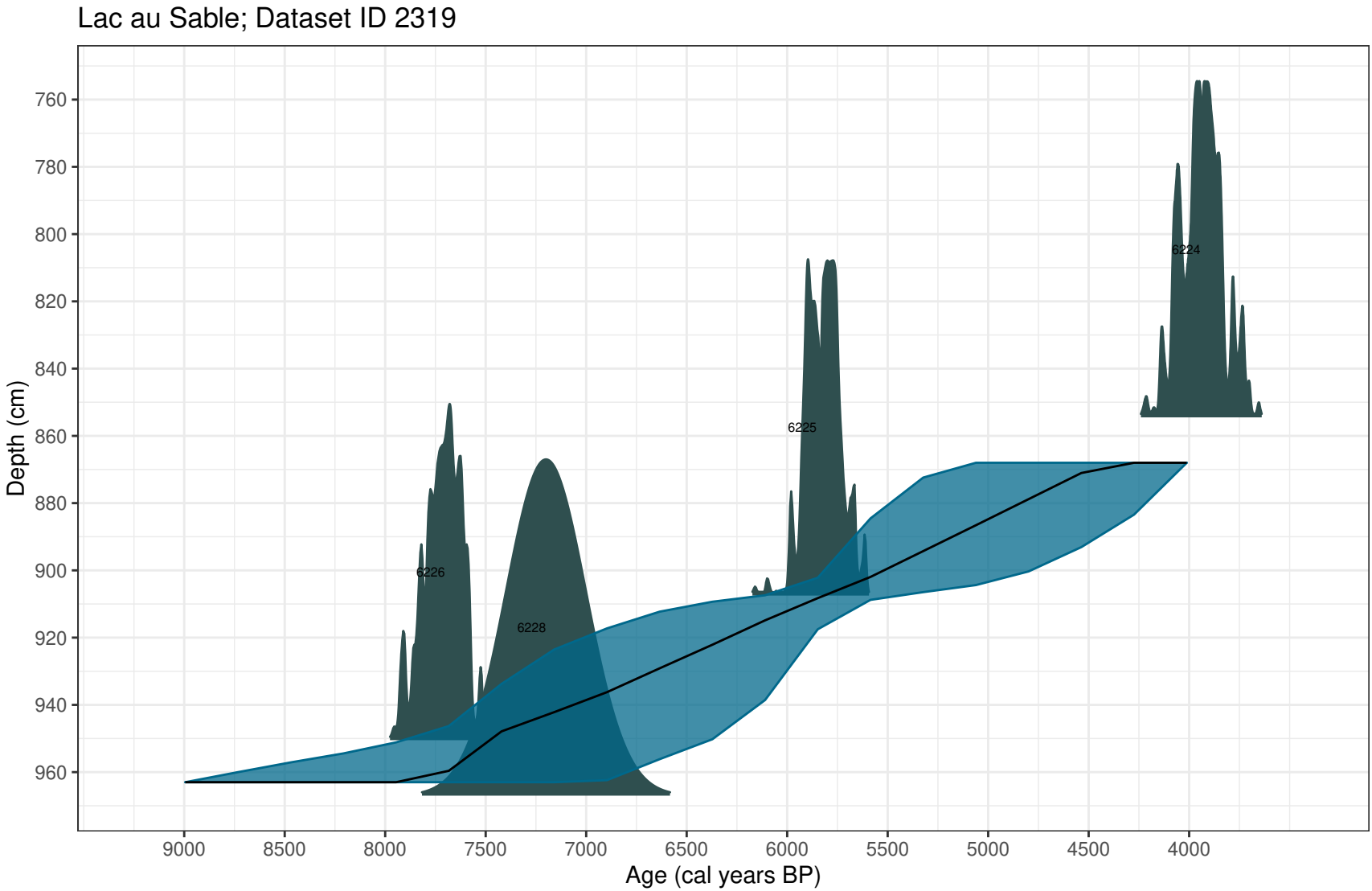
Lac au Sable; Dataset ID 2319
Depth (cm)
760
780
800
820
840
860
880
900
920
940
960
6224
6225
6226
6228
9000
8500
8000
7500
7000
6500
6000
5500
5000
4500
4000
Age (cal years BP)

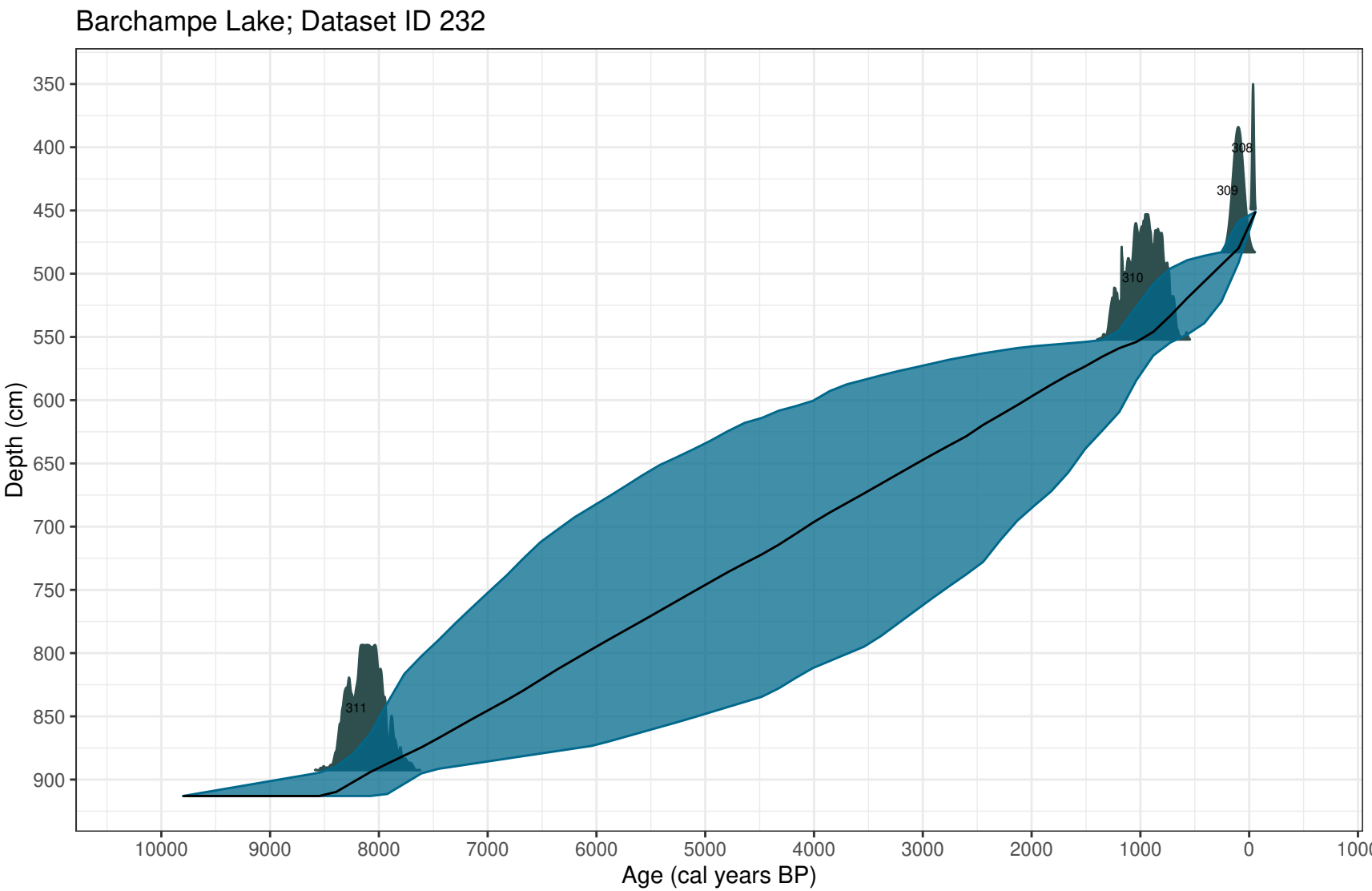
Barchampe Lake; Dataset ID 232
Depth (cm)
350
400
450
500
550
600
650
700
750
800
850
900
Age (cal years BP)
10000
9000
8000
7000
6000
5000
4000
3000
2000
1000
0
1000
308
309
310
311

Sagehen Marsh; Dataset ID 2320

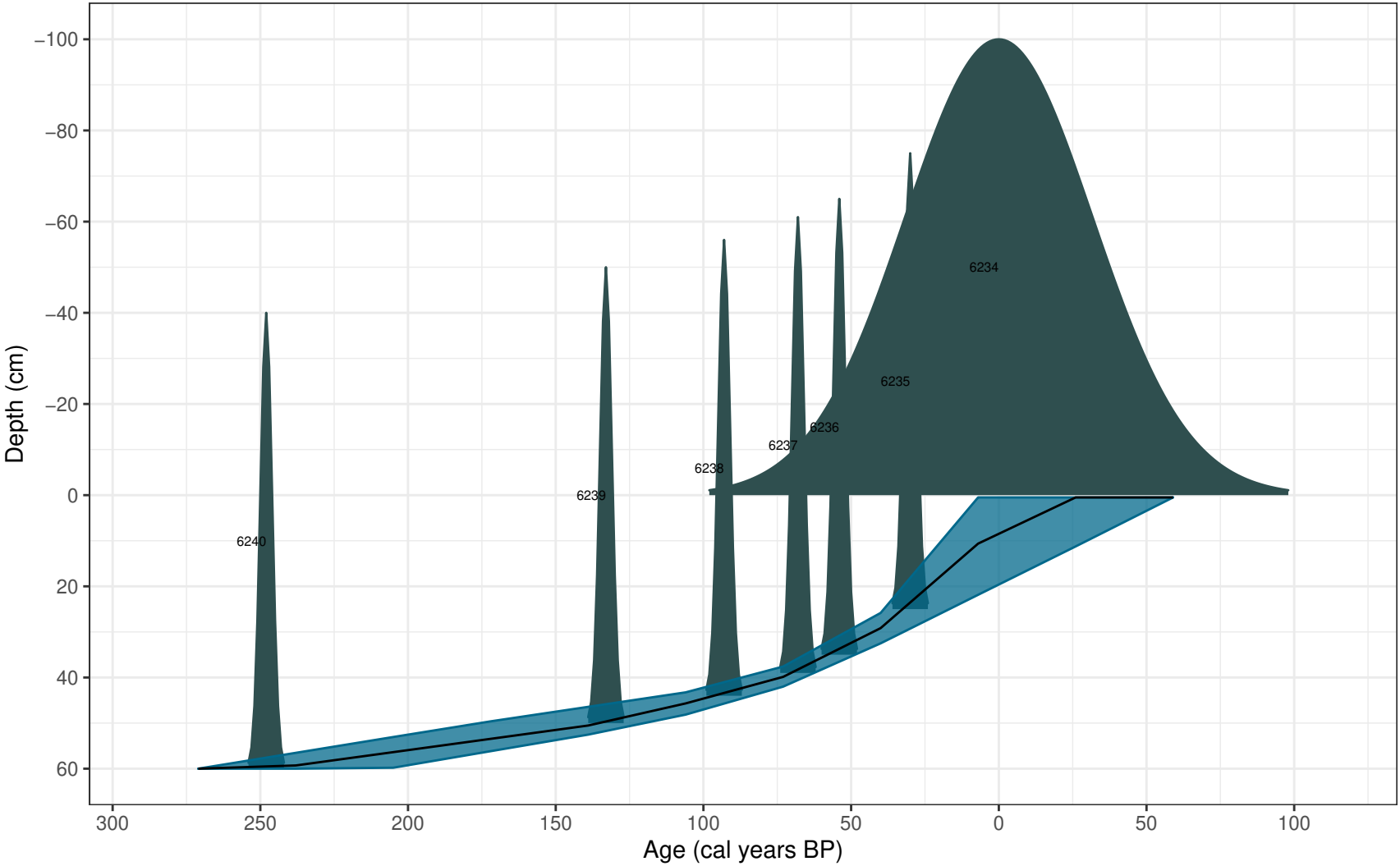

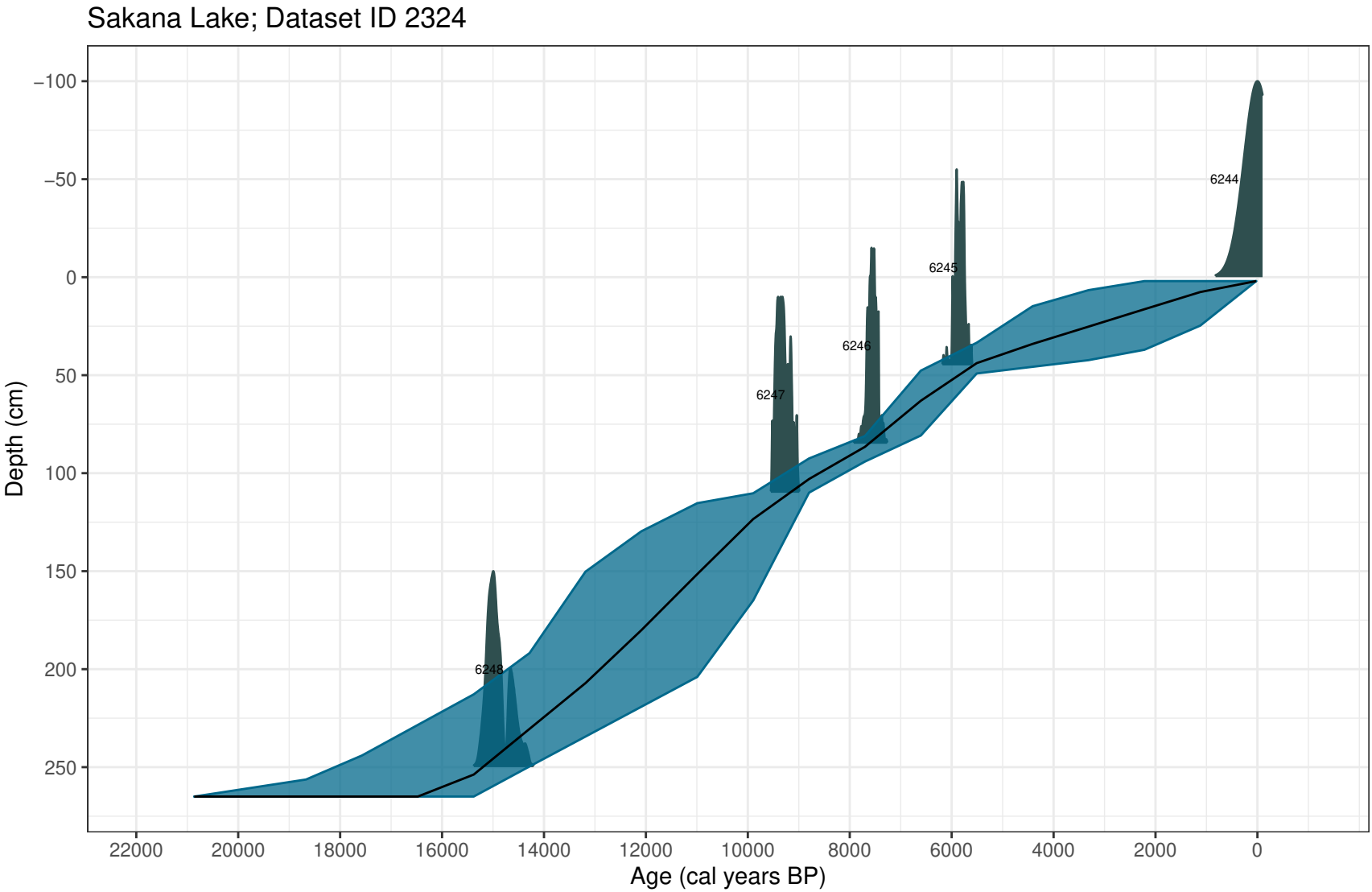
Sakana Lake; Dataset ID 2324
Depth (cm)
−100
−50
0
50
100
150
200
250
Age (cal years BP)
22000
20000
18000
16000
14000
12000
10000
8000
6000
4000
2000
0
6244
6245
6246
6247
6248

Lac à Sam; Dataset ID 2332

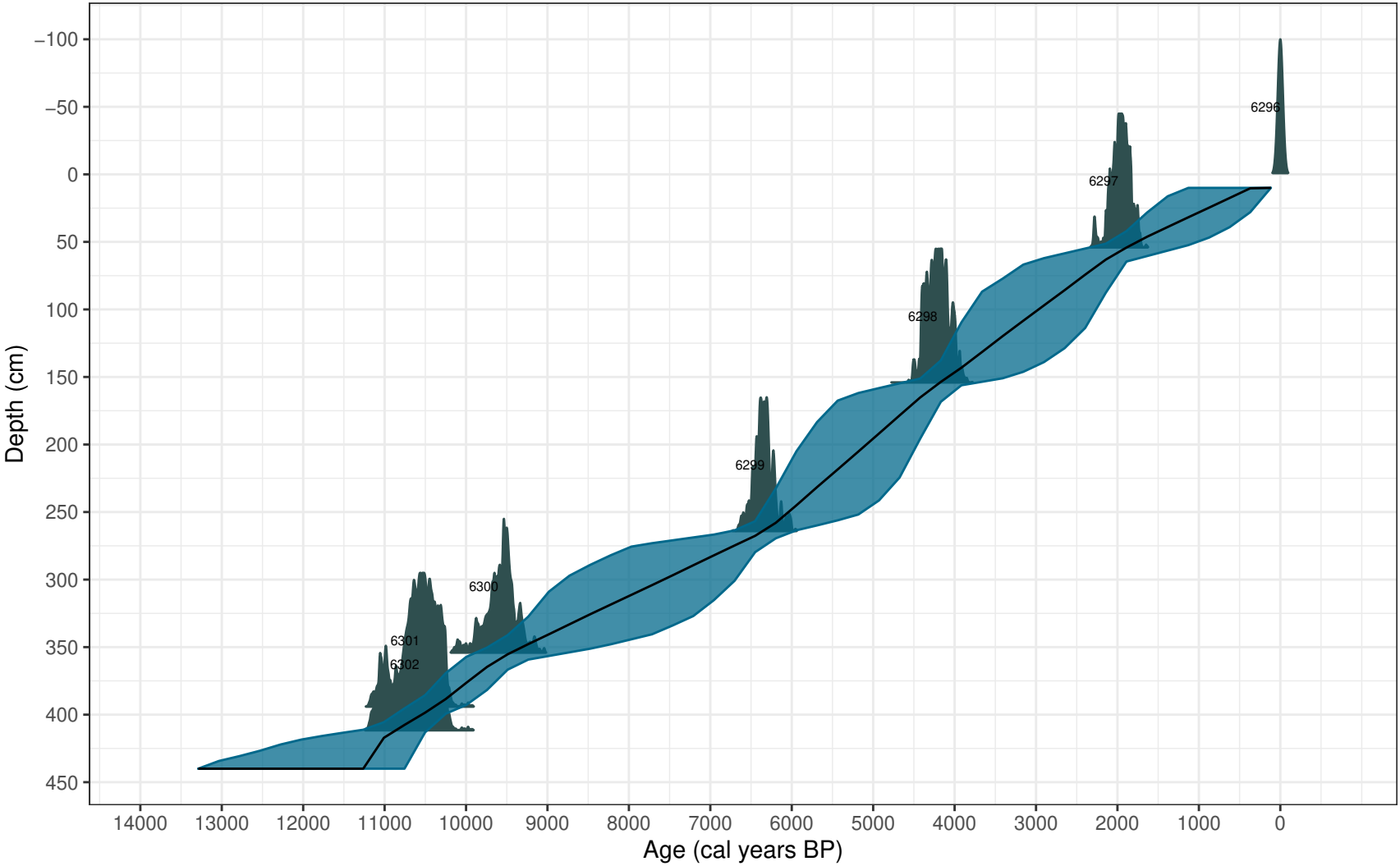

Sandy Cove Pond; Dataset ID 2337

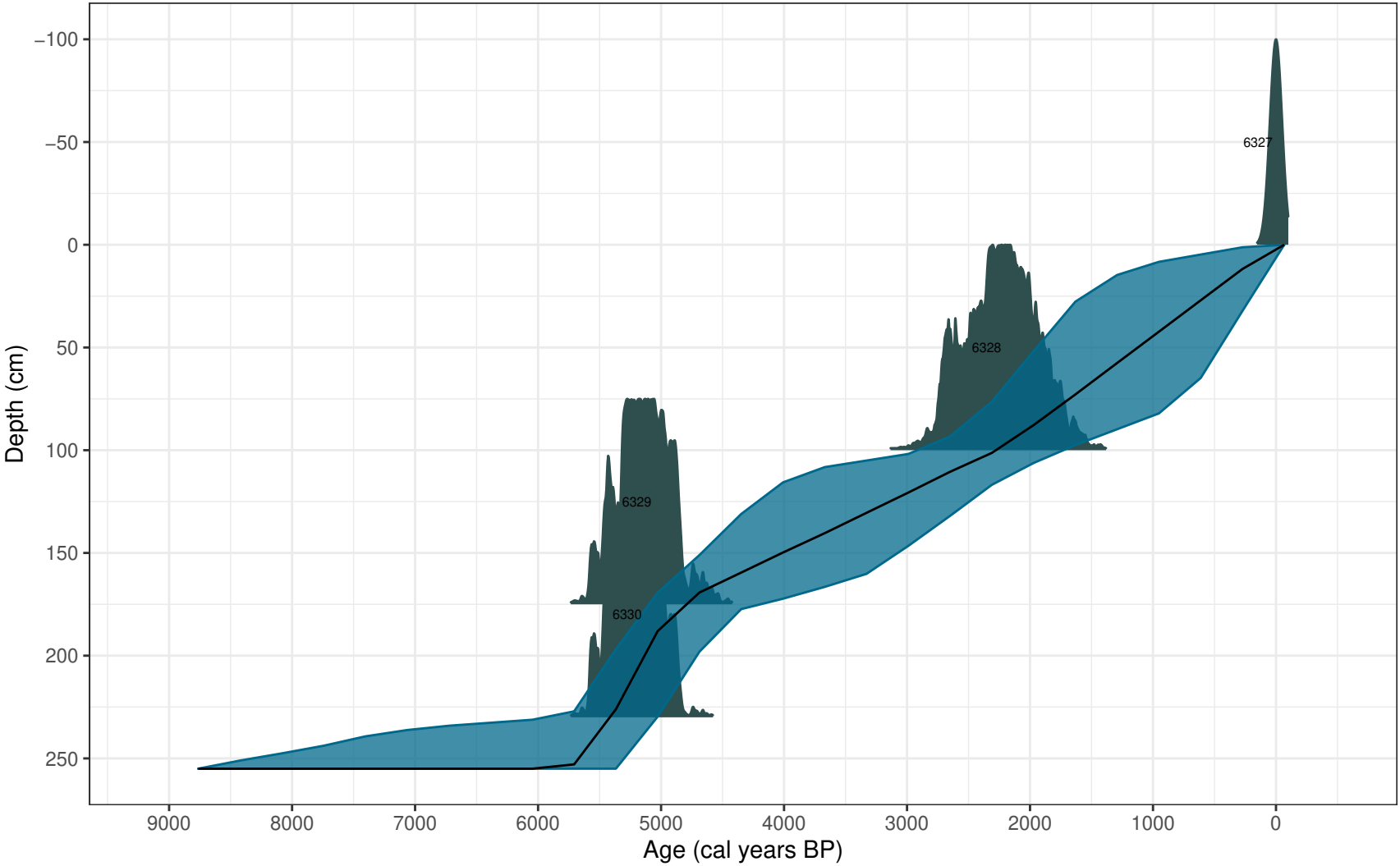

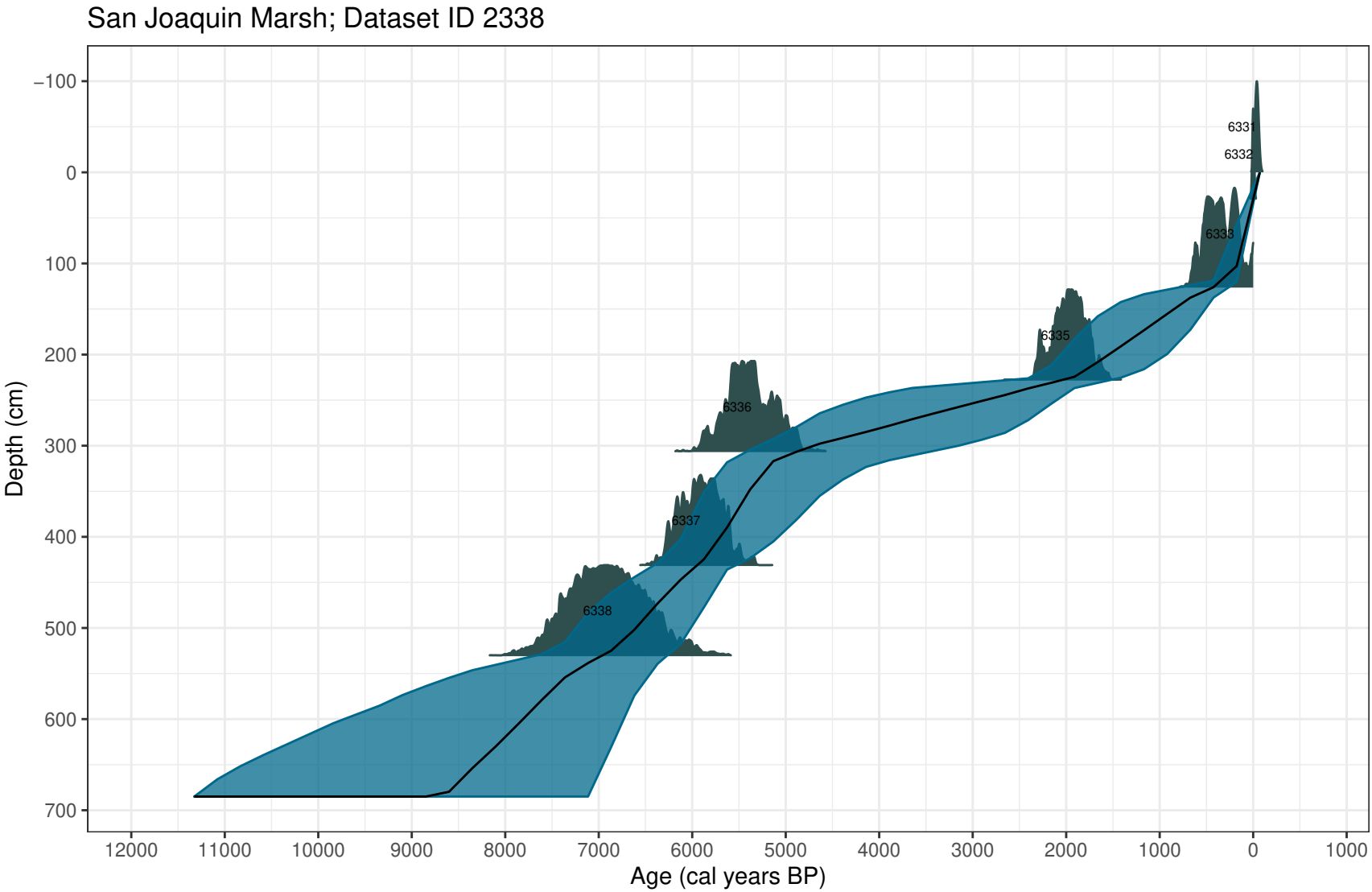
San Joaquin Marsh; Dataset ID 2338
Depth (cm)
−100
0
100
200
300
400
500
600
700
Age (cal years BP)
12000
11000
10000
9000
8000
7000
6000
5000
4000
3000
2000
1000
0
1000
6331
6332
6333
6335
6336
6337
6338

Barrett Lake; Dataset ID 234

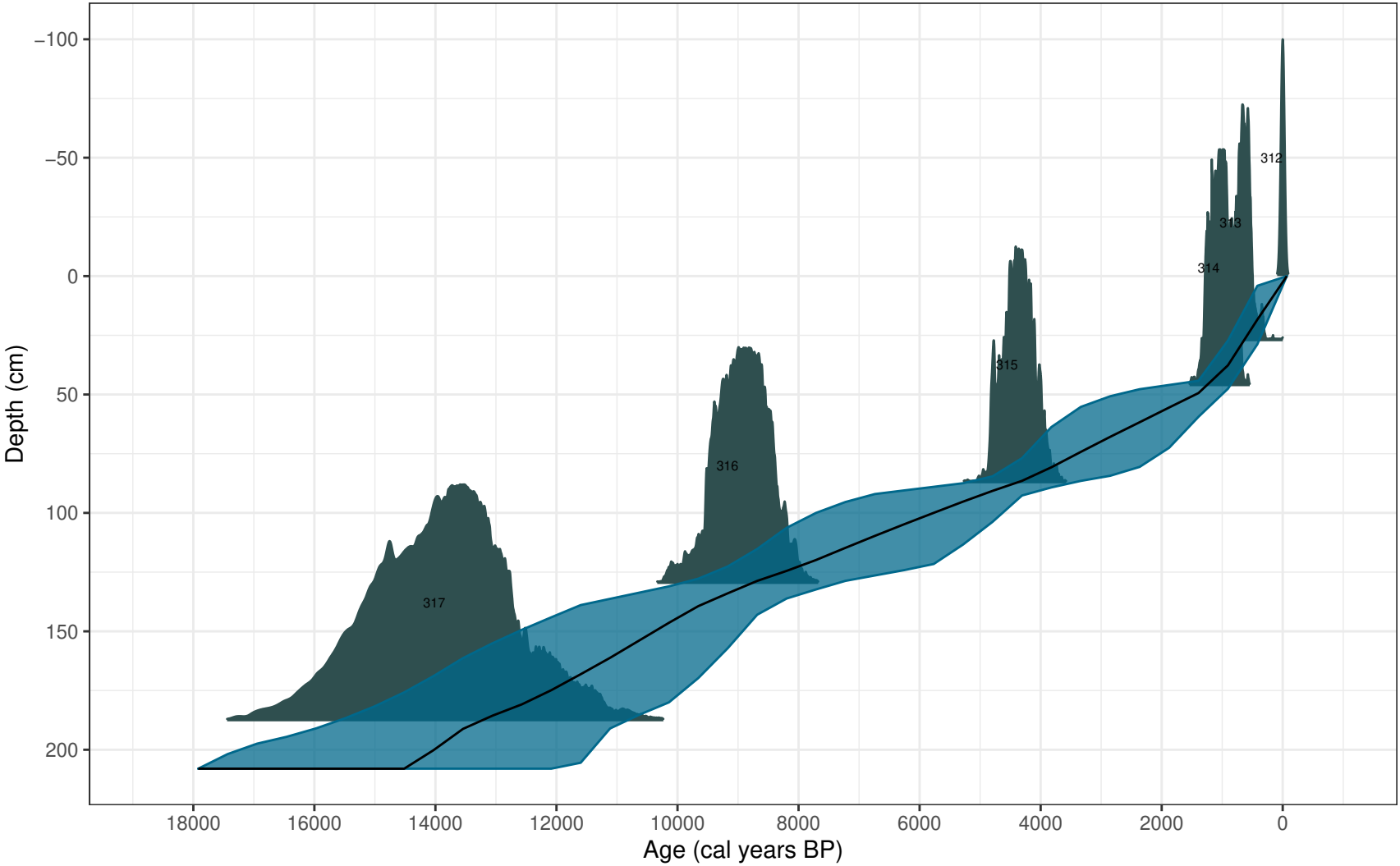

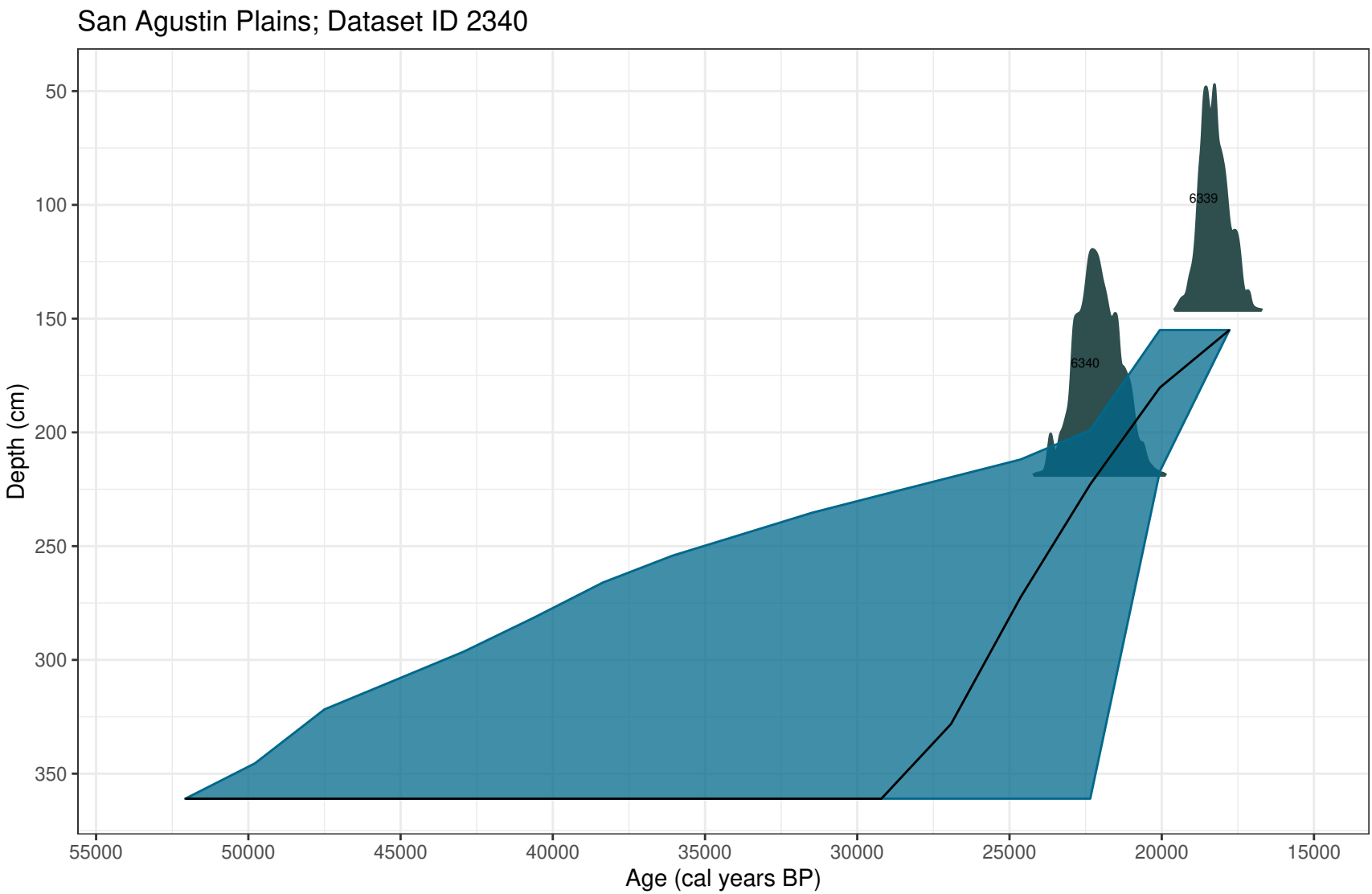
San Agustin Plains; Dataset ID 2340
6339
6340
Depth (cm)
50
100
150
200
250
300
350
55000
50000
45000
40000
35000
30000
25000
20000
15000
Age (cal years BP)

Sarnia Elk Site Section; Dataset ID 2341

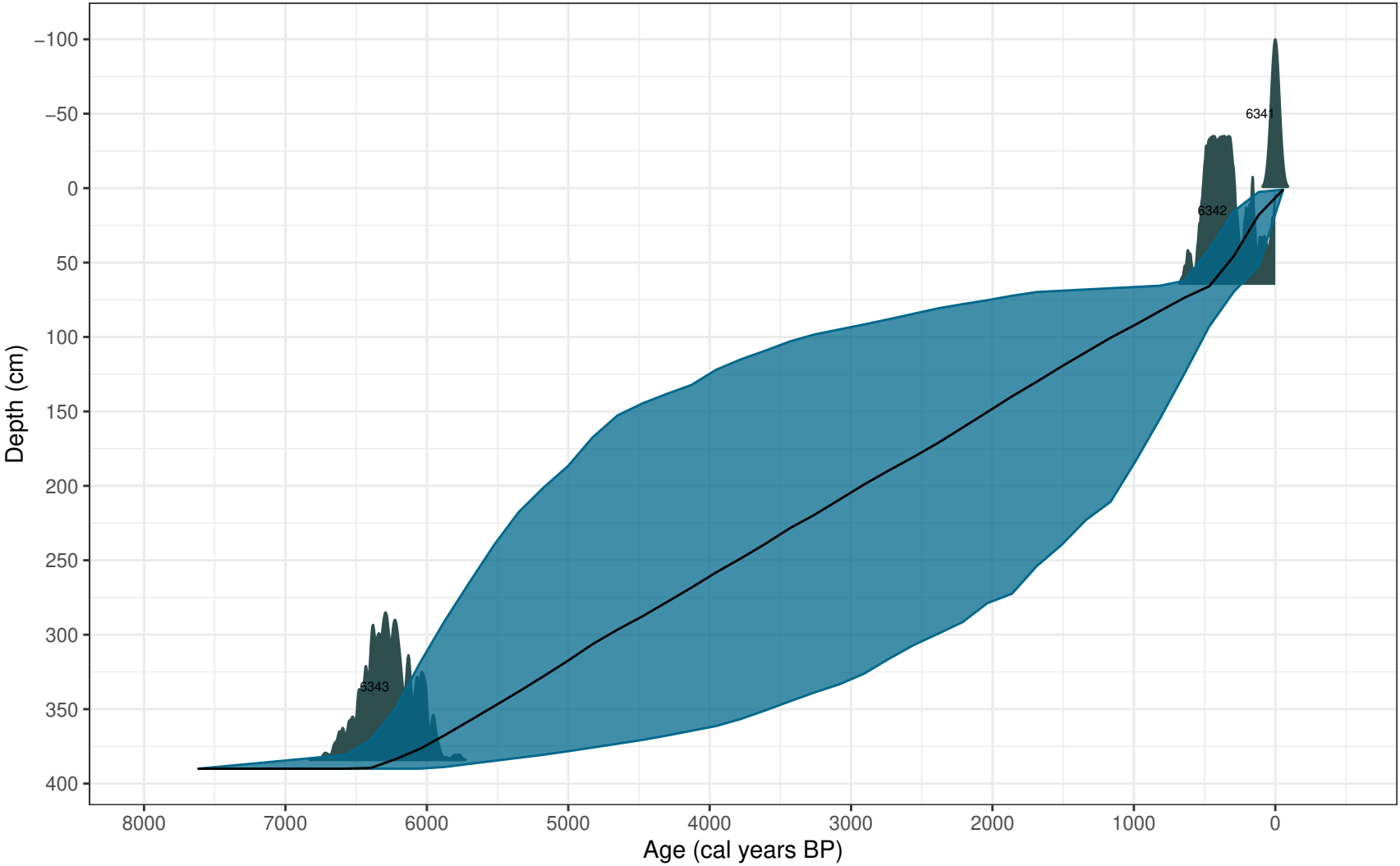

Lac Manitou; Dataset ID 2342

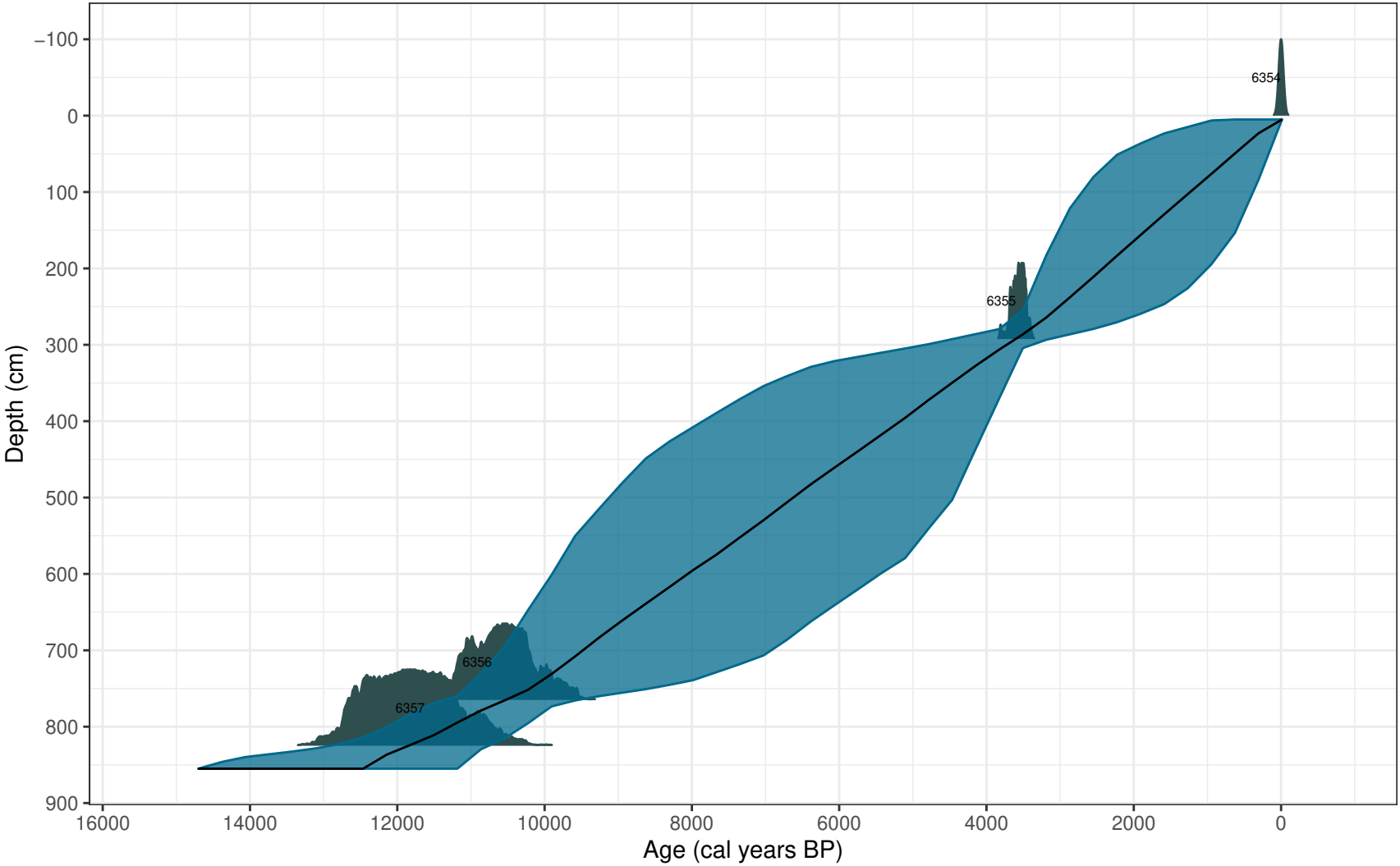

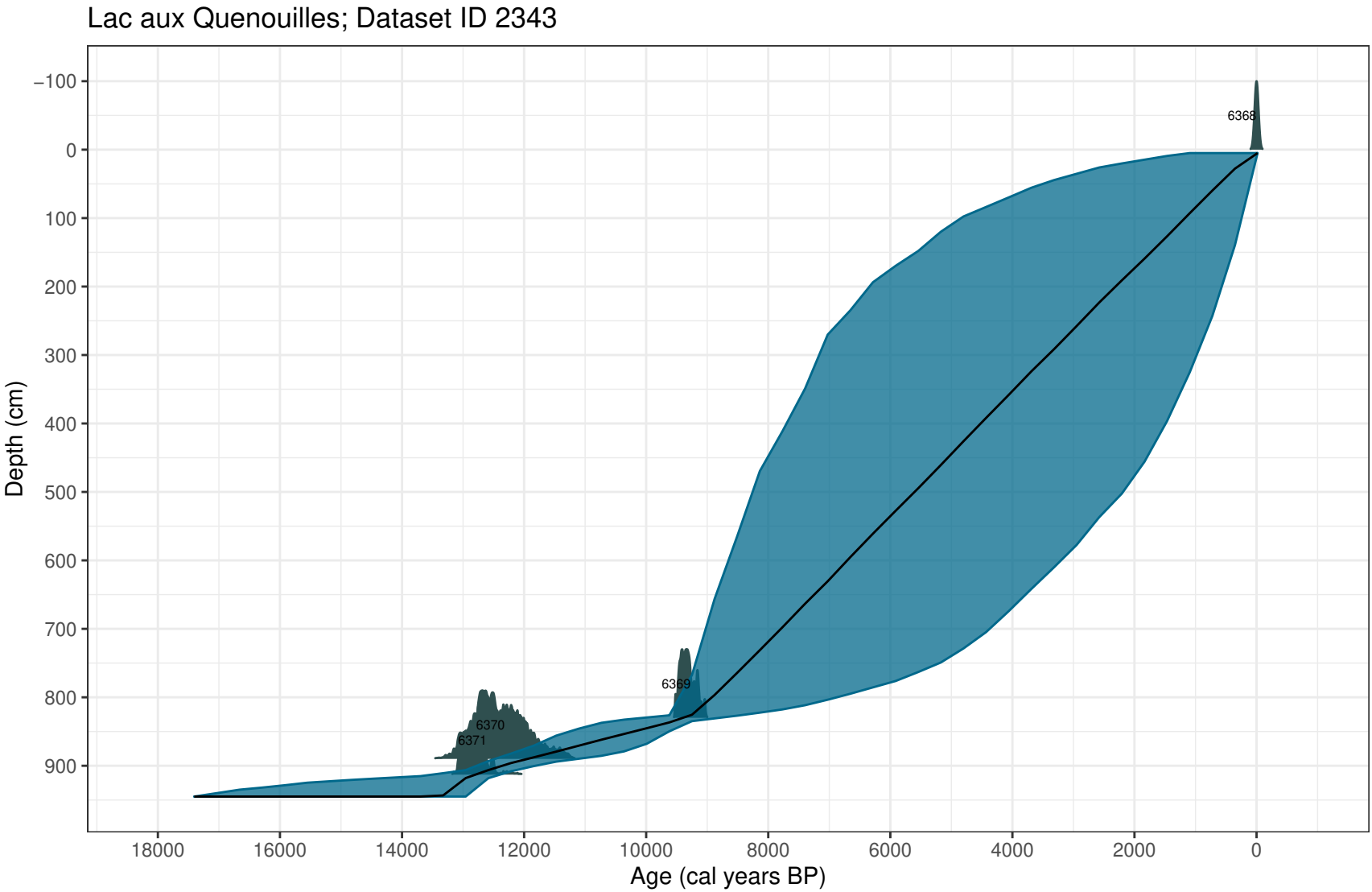
Lac aux Quenouilles; Dataset ID 2343
Depth (cm)
−100
0
100
200
300
400
500
600
700
800
900
6368
6369
6370
6371
18000
16000
14000
12000
10000
8000
6000
4000
2000
0
Age (cal years BP)

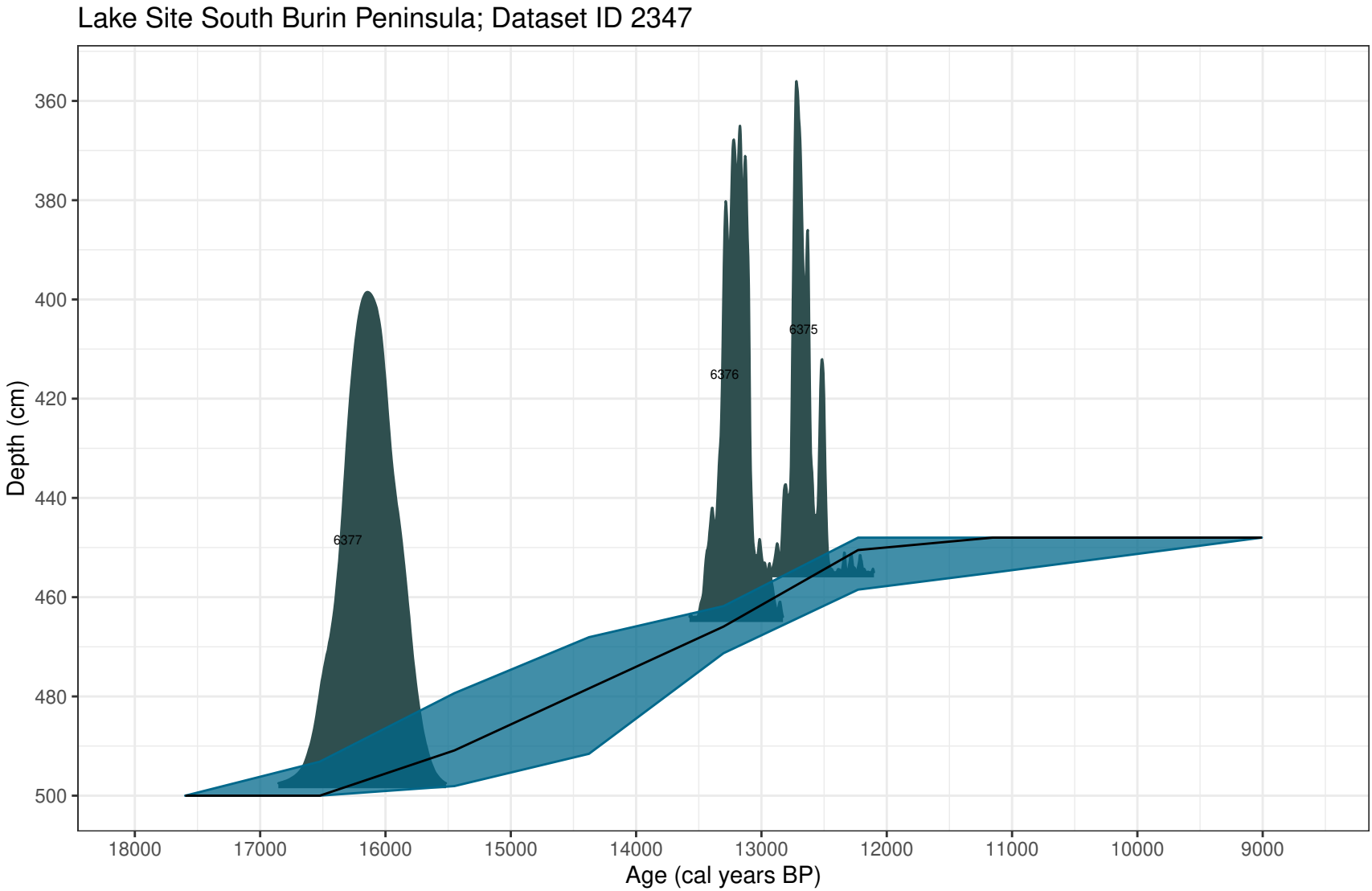
Lake Site South Burin Peninsula; Dataset ID 2347
Depth (cm)
360
380
400
420
440
460
480
500
6377
6376
6375
18000
17000
16000
15000
14000
13000
12000
11000
10000
9000
Age (cal years BP)

SC1 Pond; Dataset ID 2348

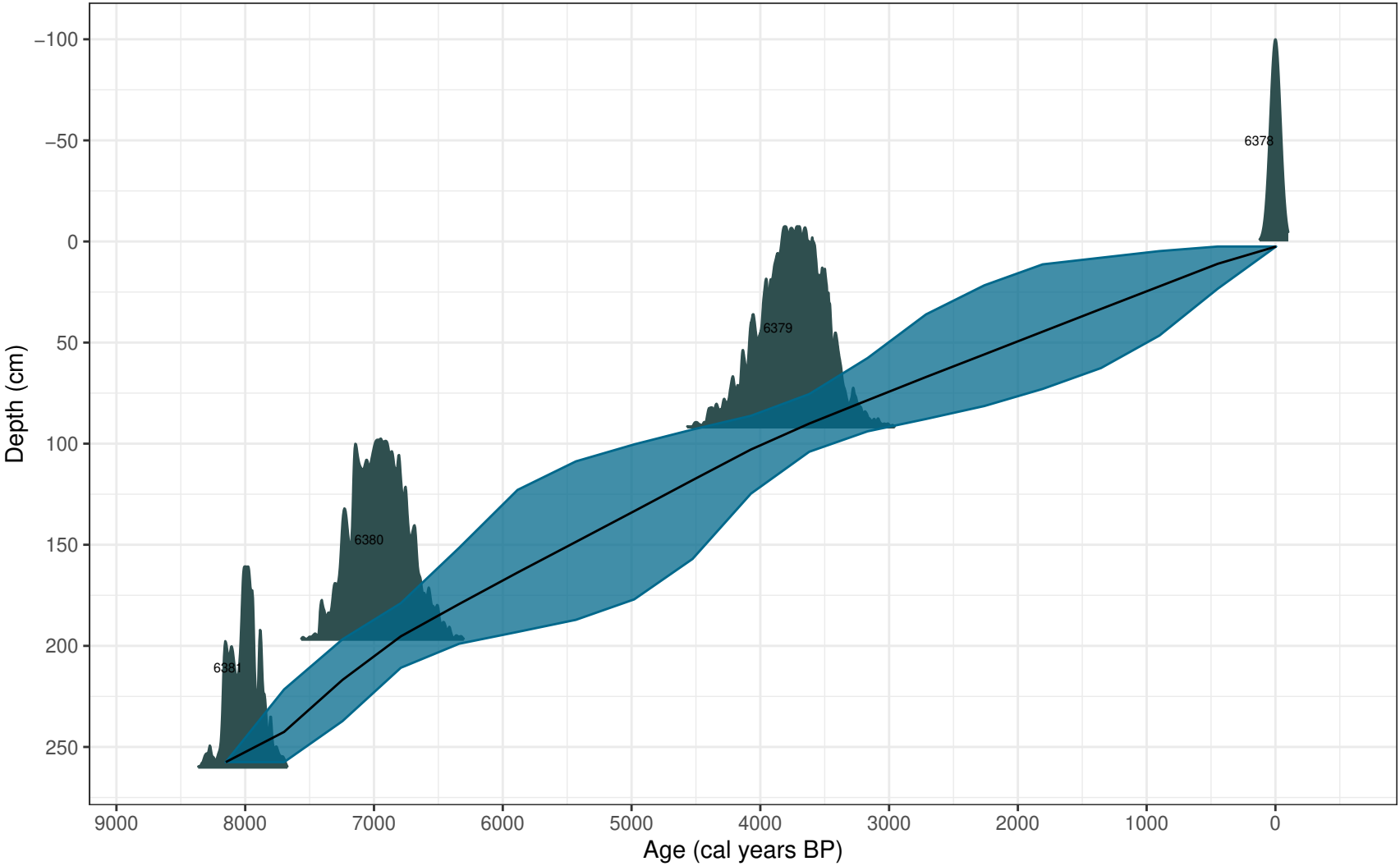

Scott Lake; Dataset ID 2349

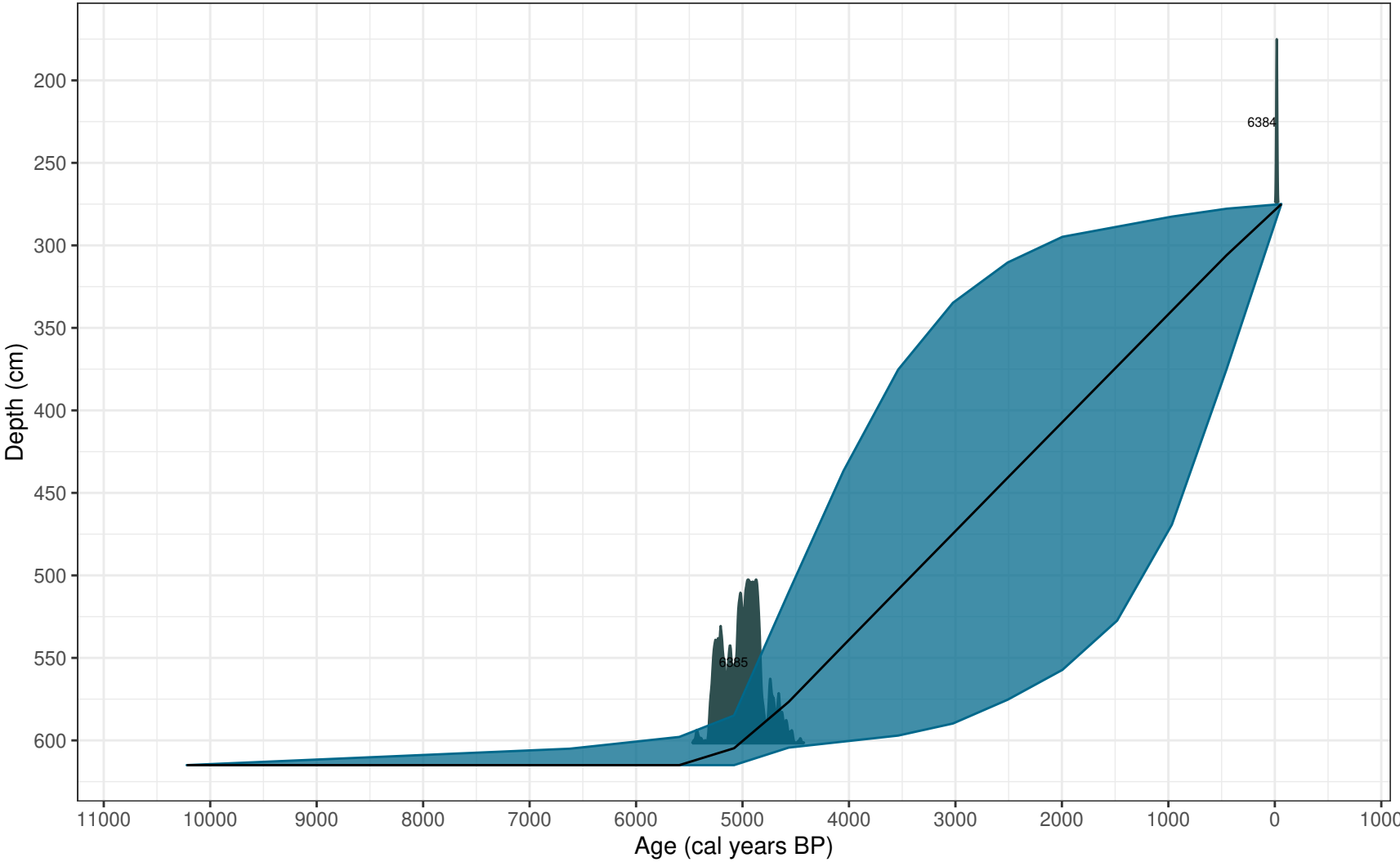

Barry Lake; Dataset ID 235

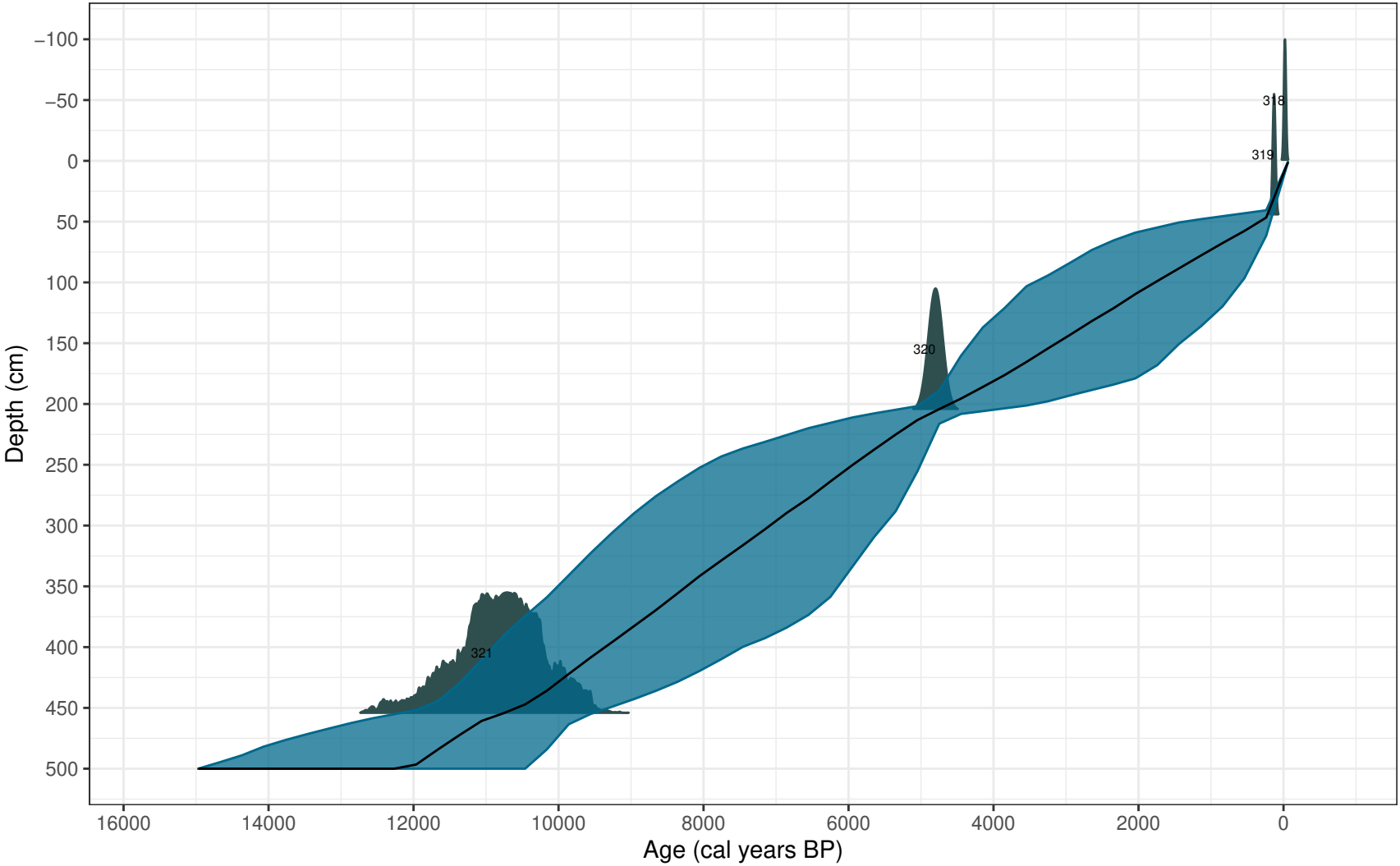

Seagull Lake; Dataset ID 2352

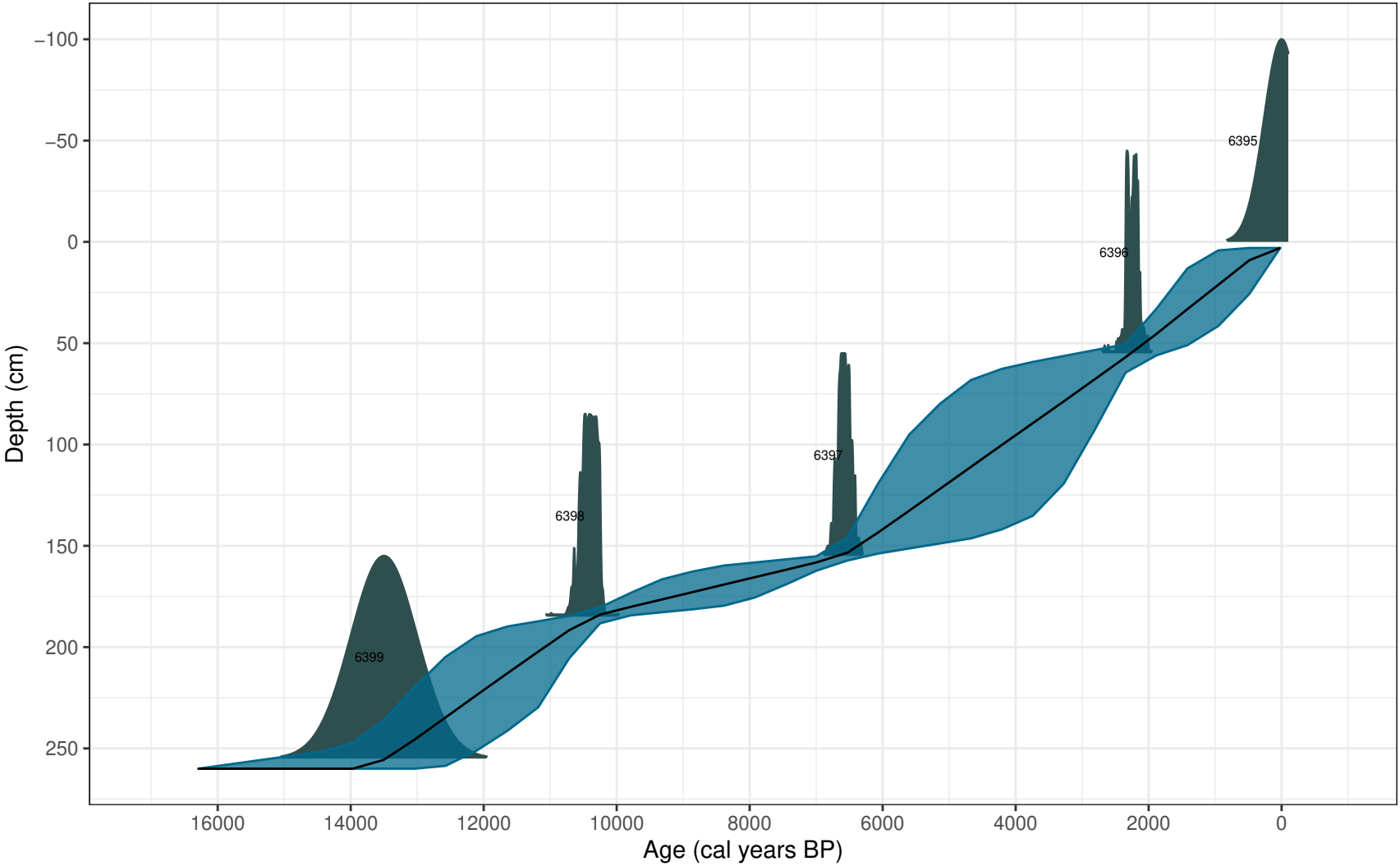

Kettle's Lake [Second Lake]; Dataset ID 2353

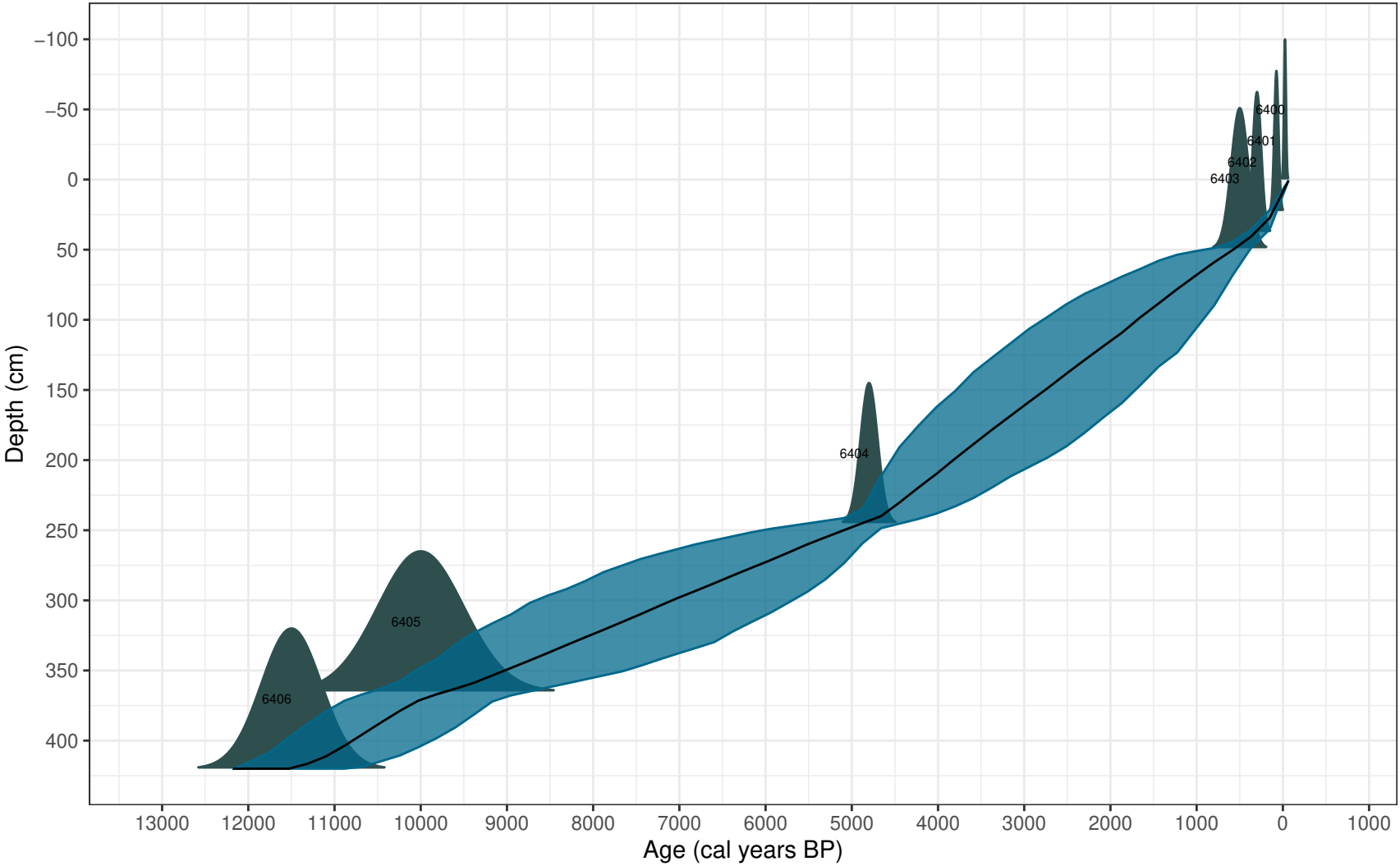

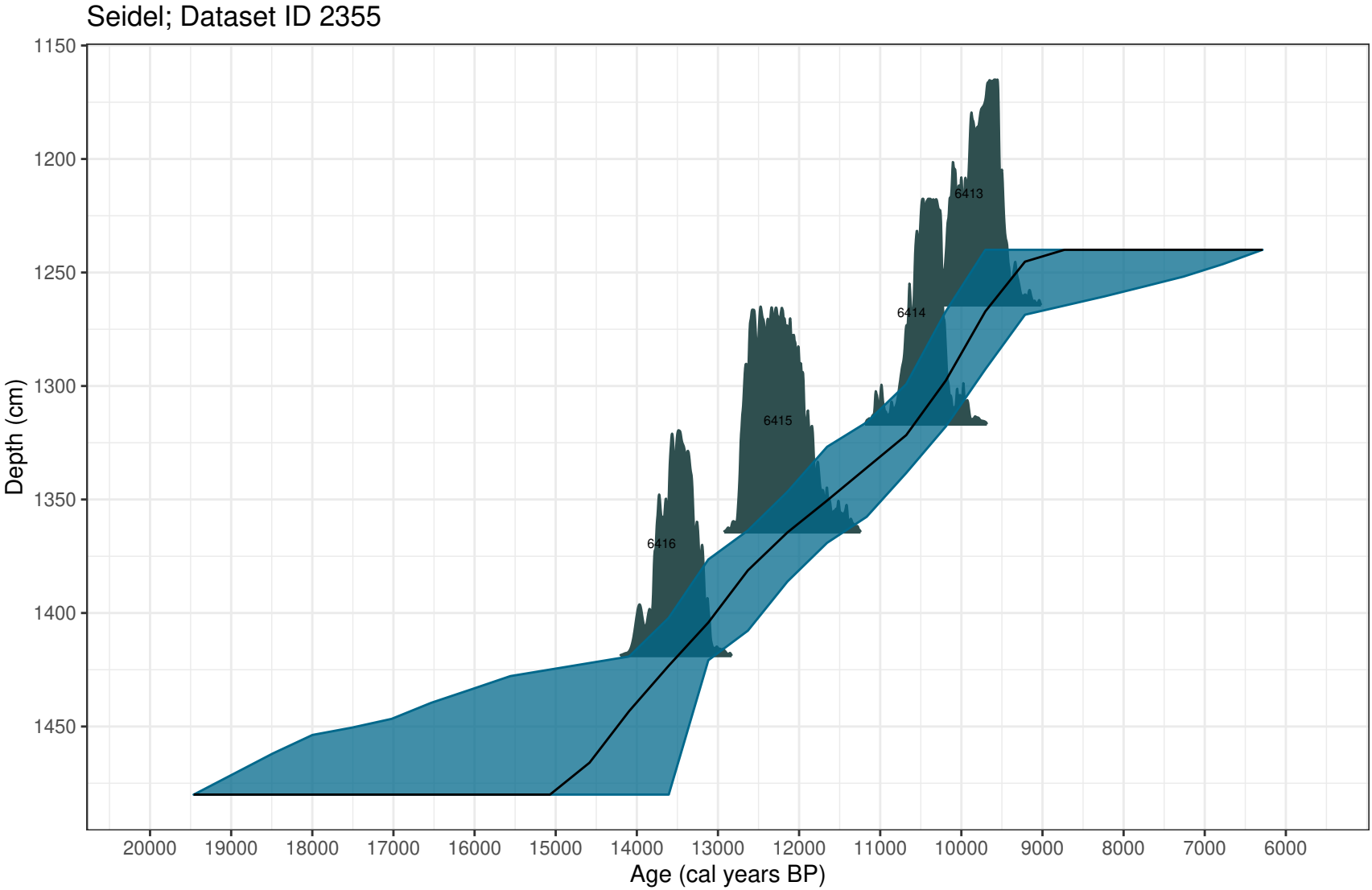
Seidel; Dataset ID 2355
Depth (cm)
1150
1200
1250
1300
1350
1400
1450
6413
6414
6415
6416
20000
19000
18000
17000
16000
15000
14000
13000
12000
11000
10000
9000
8000
7000
6000
Age (cal years BP)

Baseball Bog; Dataset ID 236

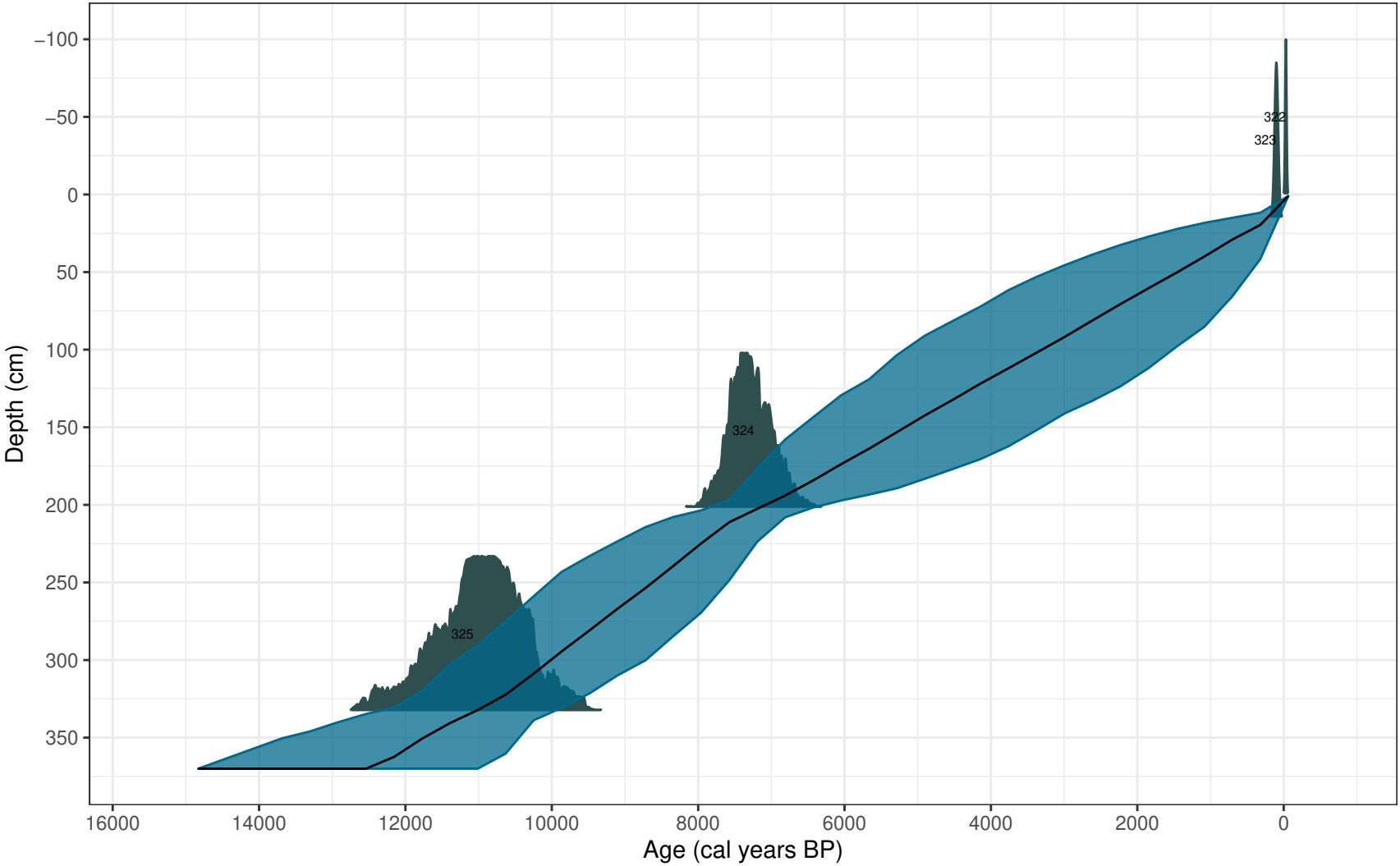

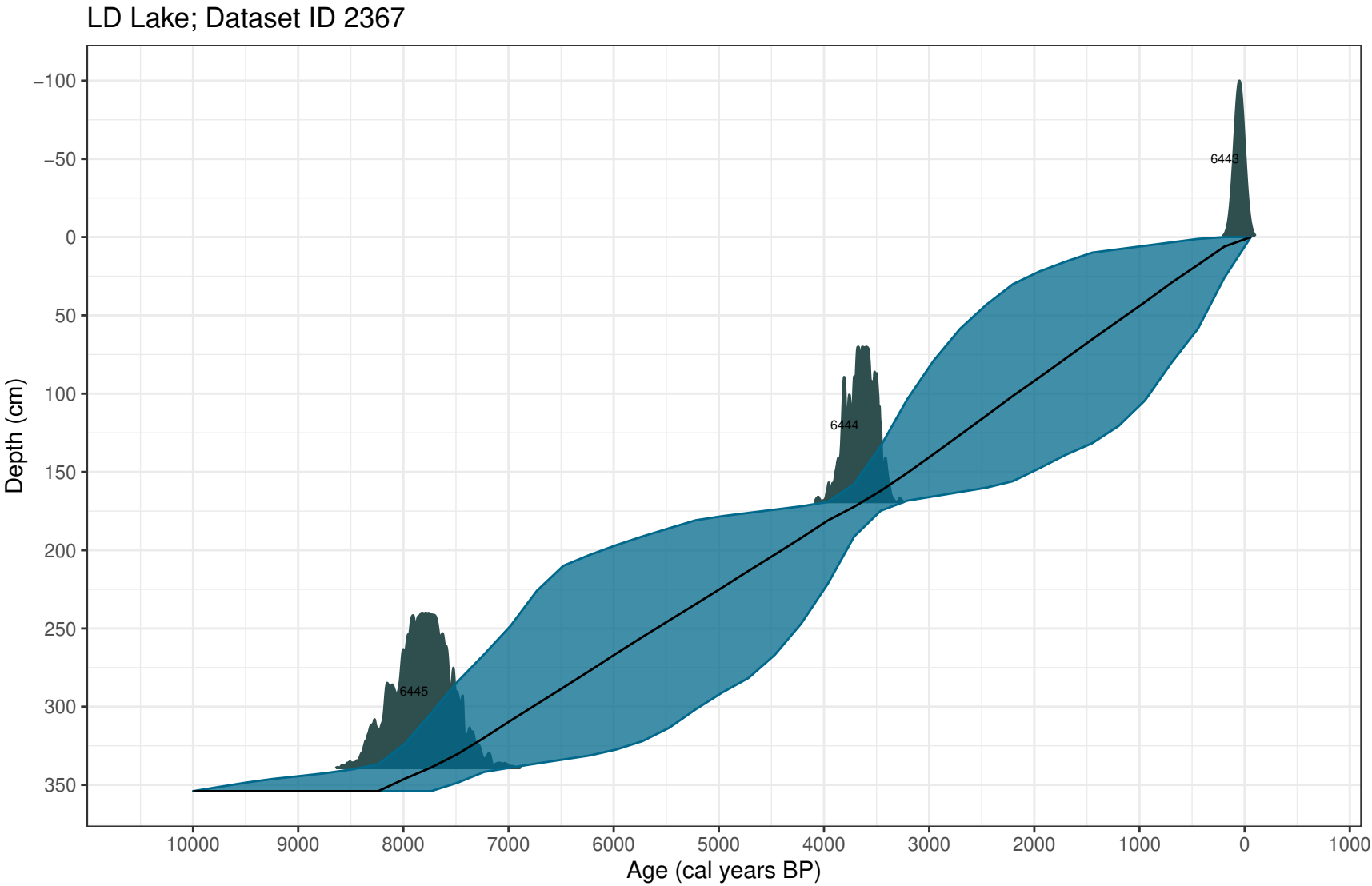
LD Lake; Dataset ID 2367
Depth (cm)
−100
−50
0
50
100
150
200
250
300
350
6443
6444
6445
10000
9000
8000
7000
6000
5000
4000
3000
2000
1000
0
1000
Age (cal years BP)

Sewell Lake; Dataset ID 2372

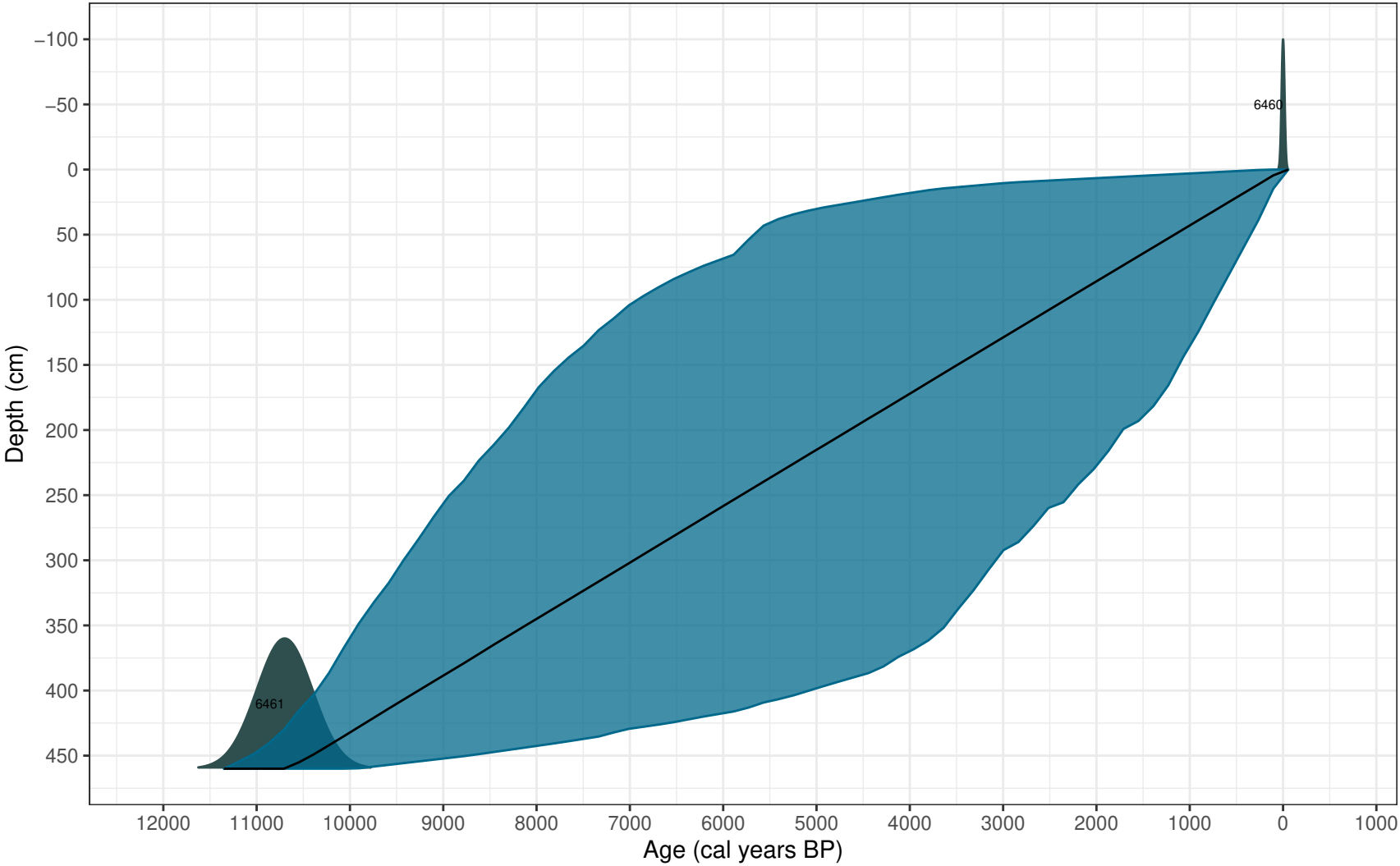

Saint−Francois de Sales; Dataset ID 2373

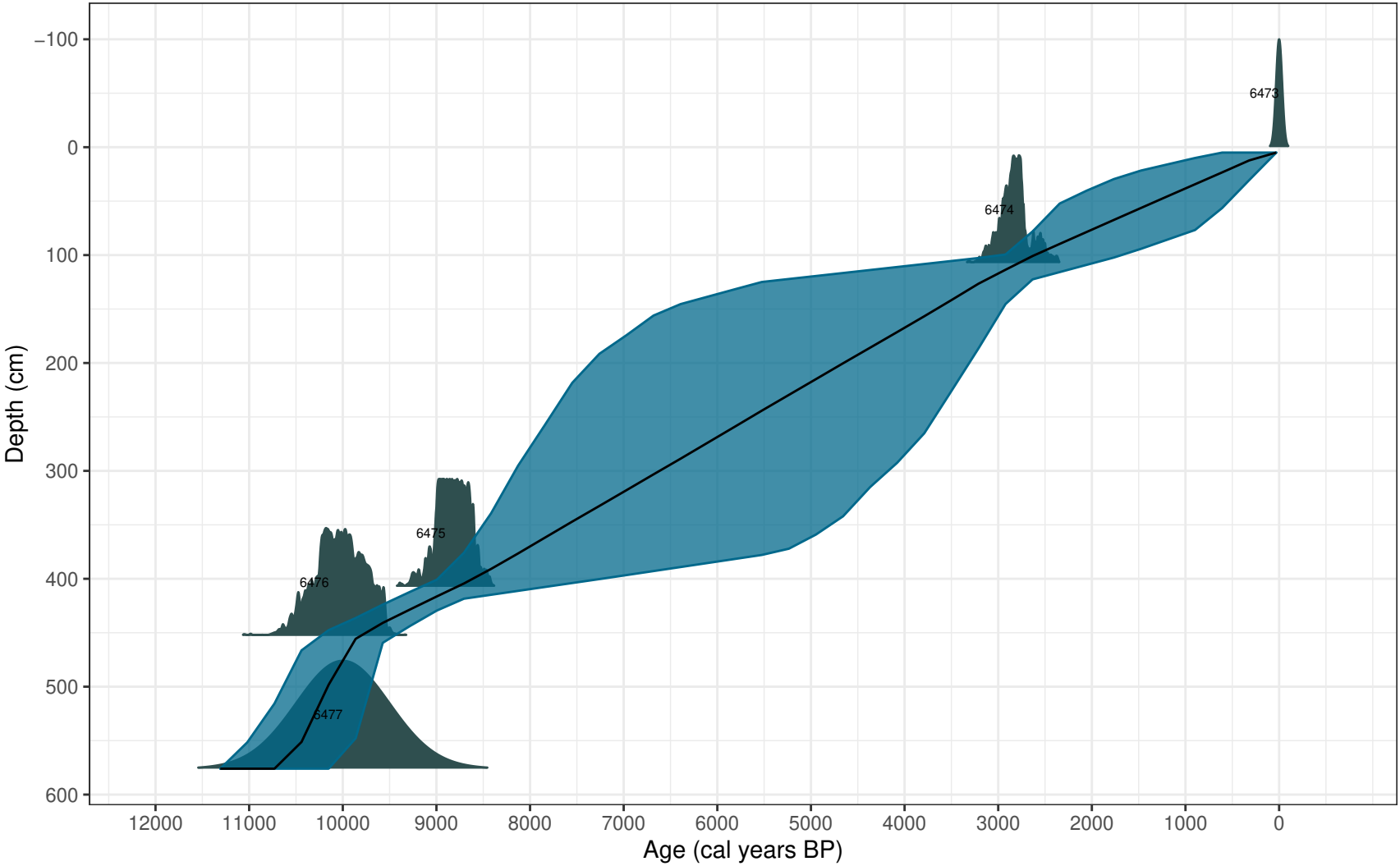

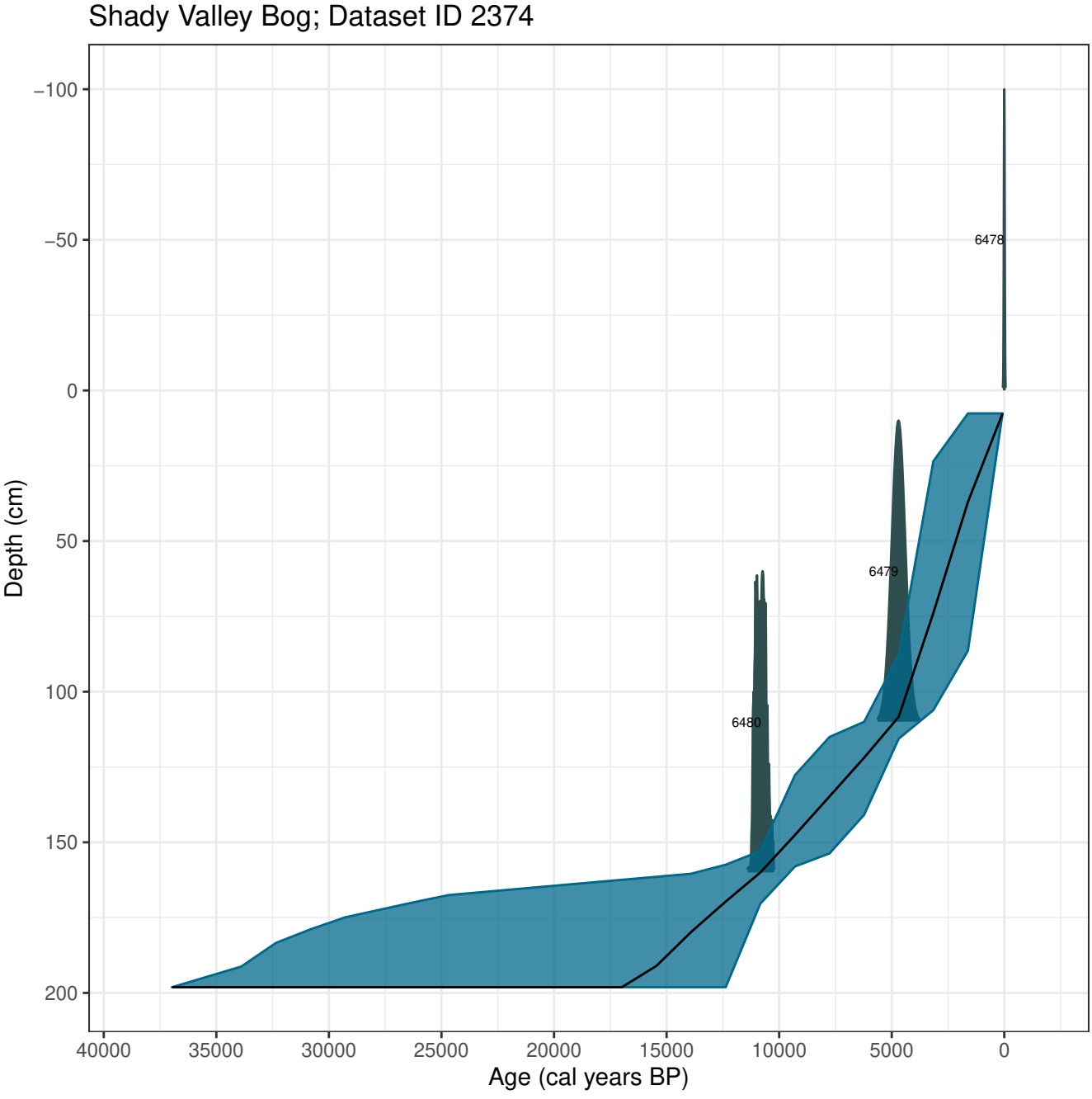
Shady Valley Bog; Dataset ID 2374
Depth (cm)
−100
−50
0
50
100
150
200
6478
6479
6480
40000
35000
30000
25000
20000
15000
10000
5000
0
Age (cal years BP)

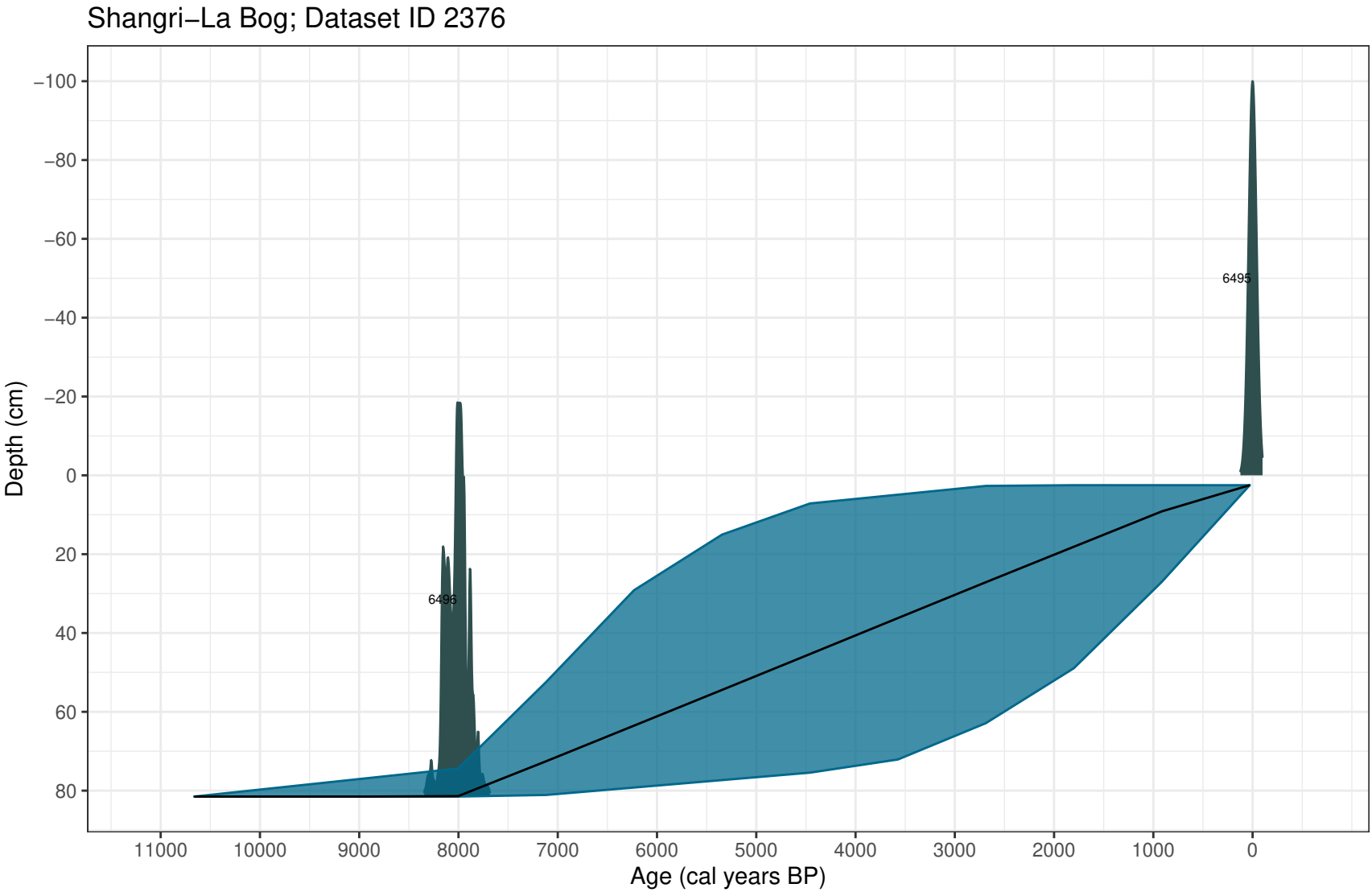
Shangri−La Bog; Dataset ID 2376
Depth (cm)
−100
−80
−60
−40
−20
0
20
40
60
80
6495
6496
11000
10000
9000
8000
7000
6000
5000
4000
3000
2000
1000
0
Age (cal years BP)

Shaws Bog; Dataset ID 2377

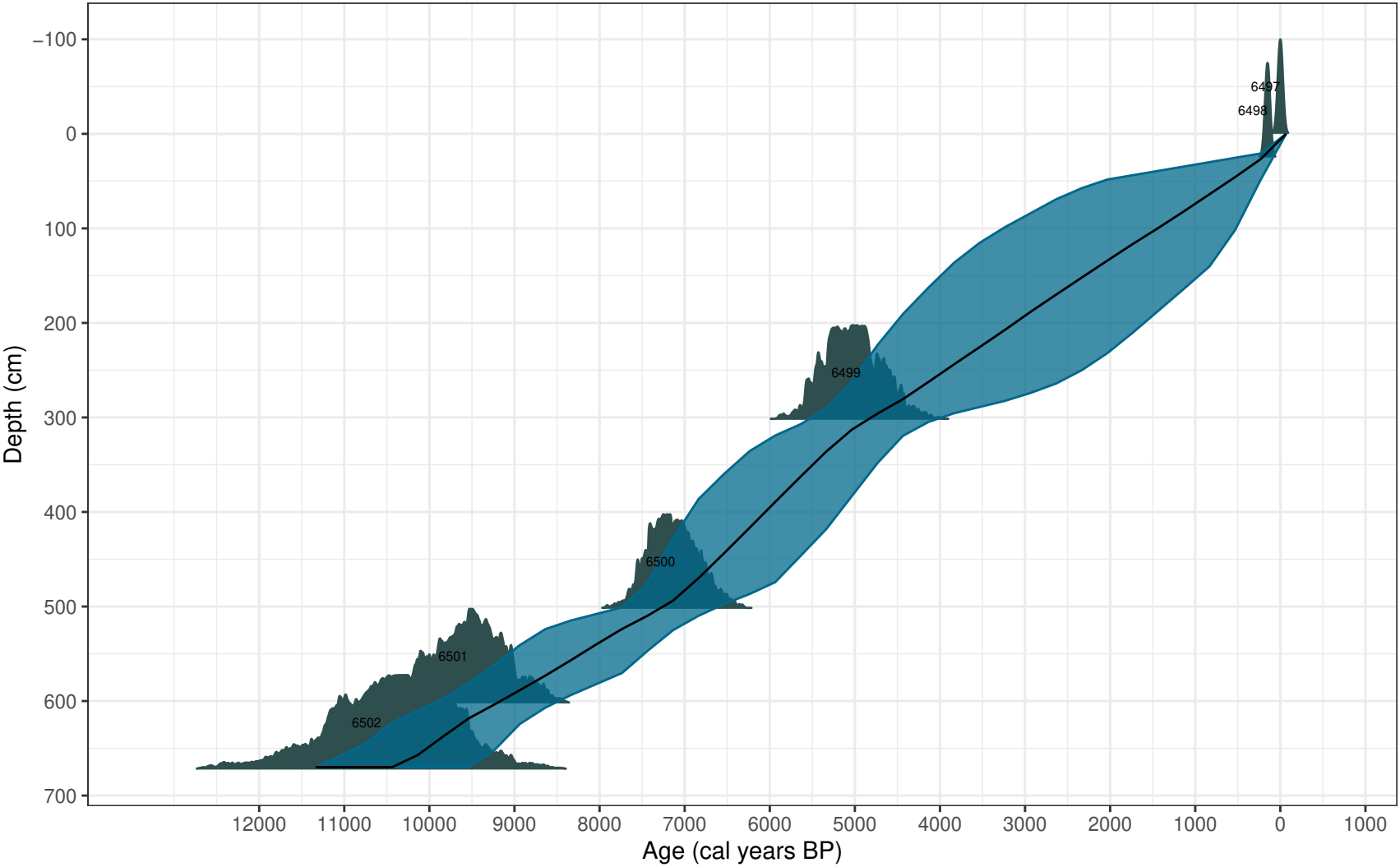

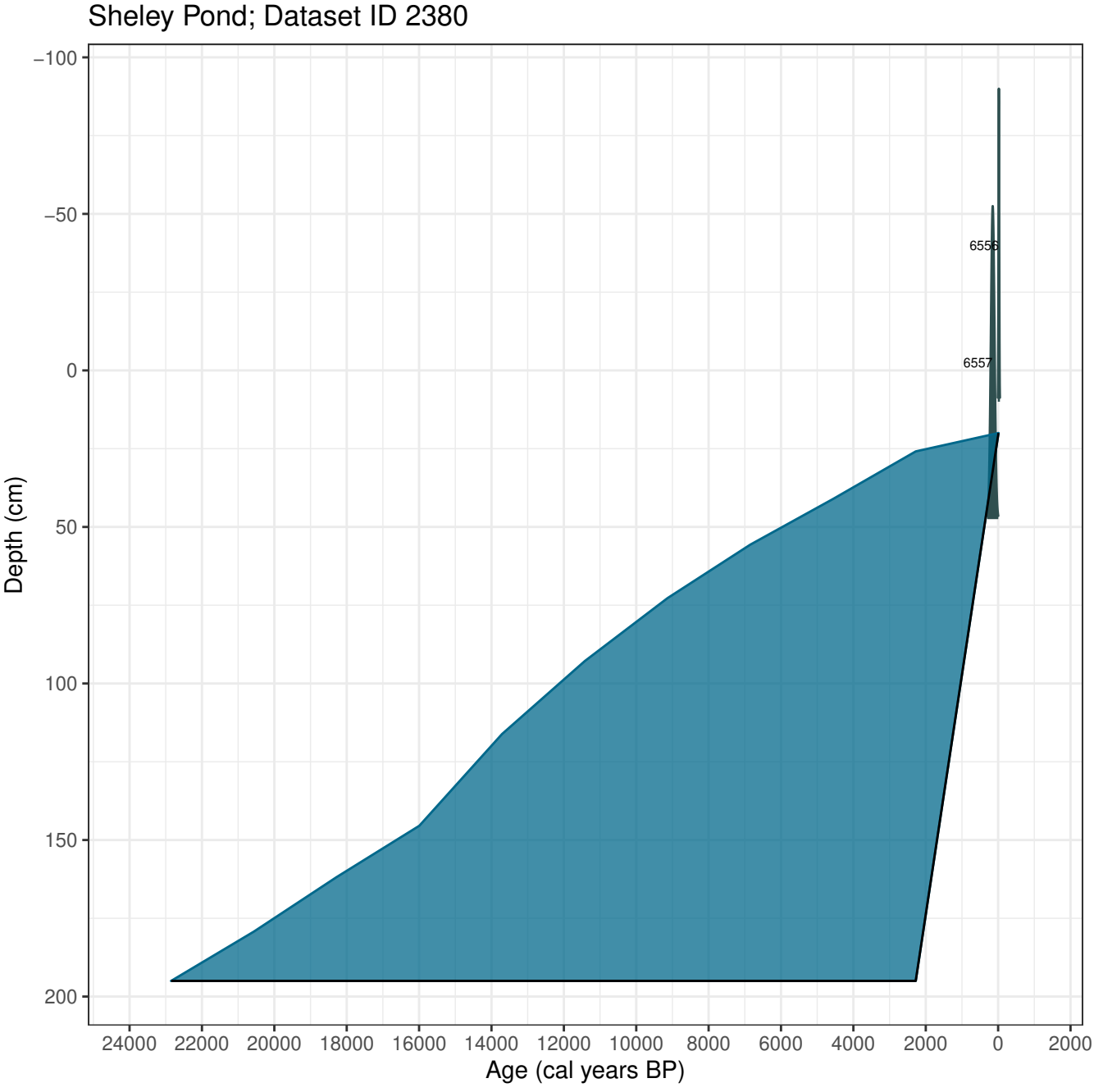
Sheley Pond; Dataset ID 2380
Depth (cm)
−100
−50
0
50
100
150
200
6556
6557
24000
22000
20000
18000
16000
14000
12000
10000
8000
6000
4000
2000
0
2000
Age (cal years BP)

Sherd Lake; Dataset ID 2381

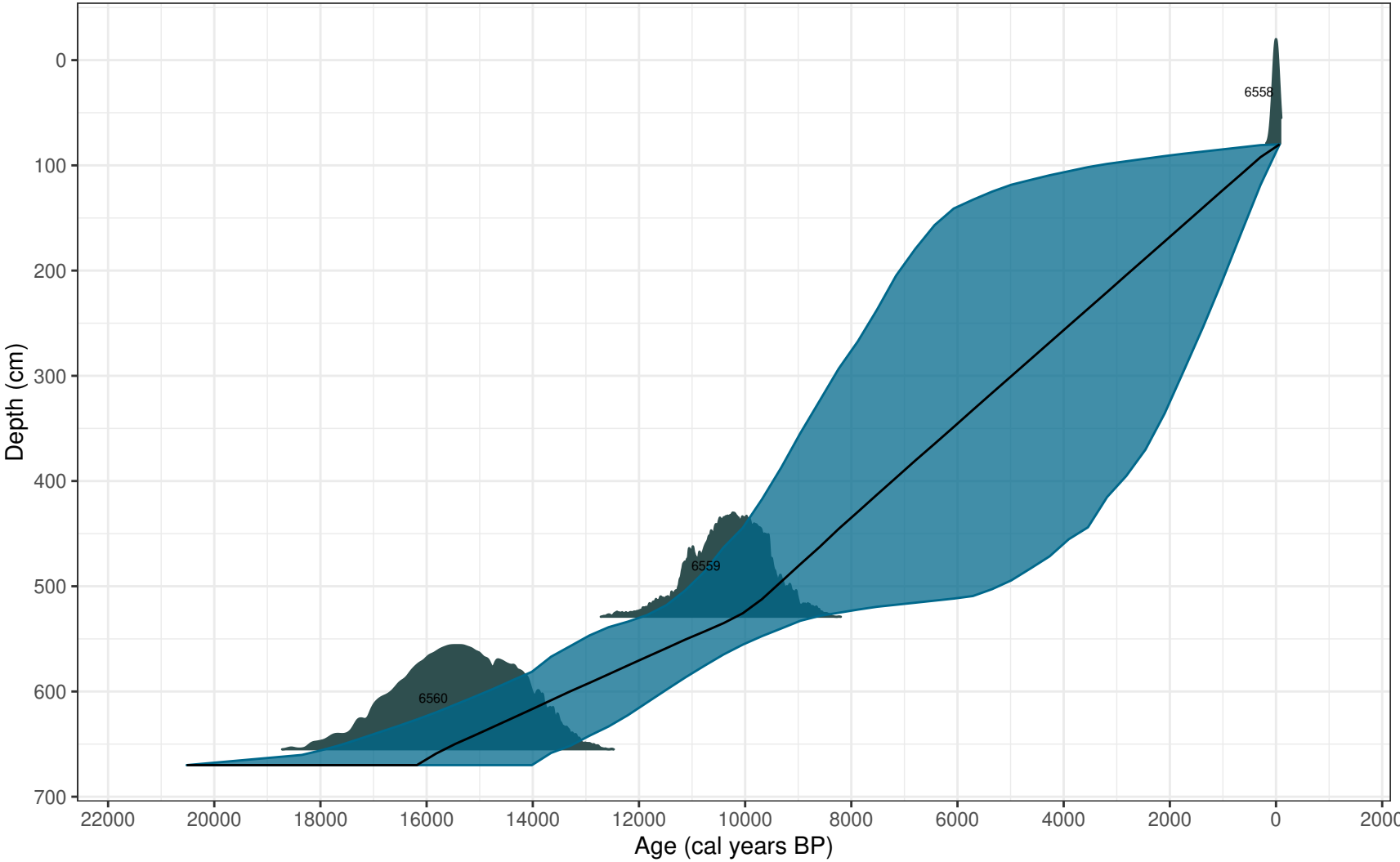

Shouldice Lake; Dataset ID 2382

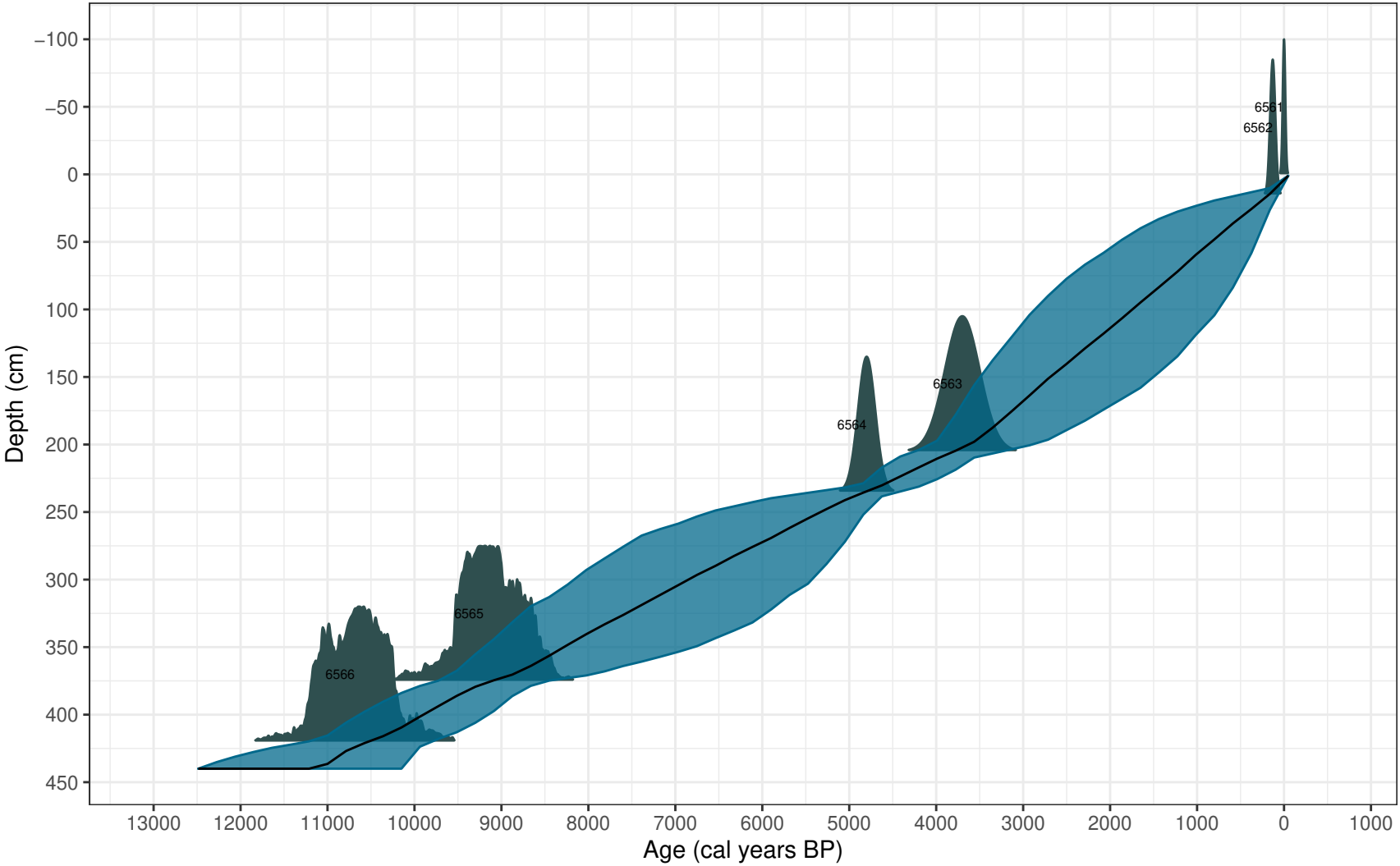

Silver Lake; Dataset ID 2384

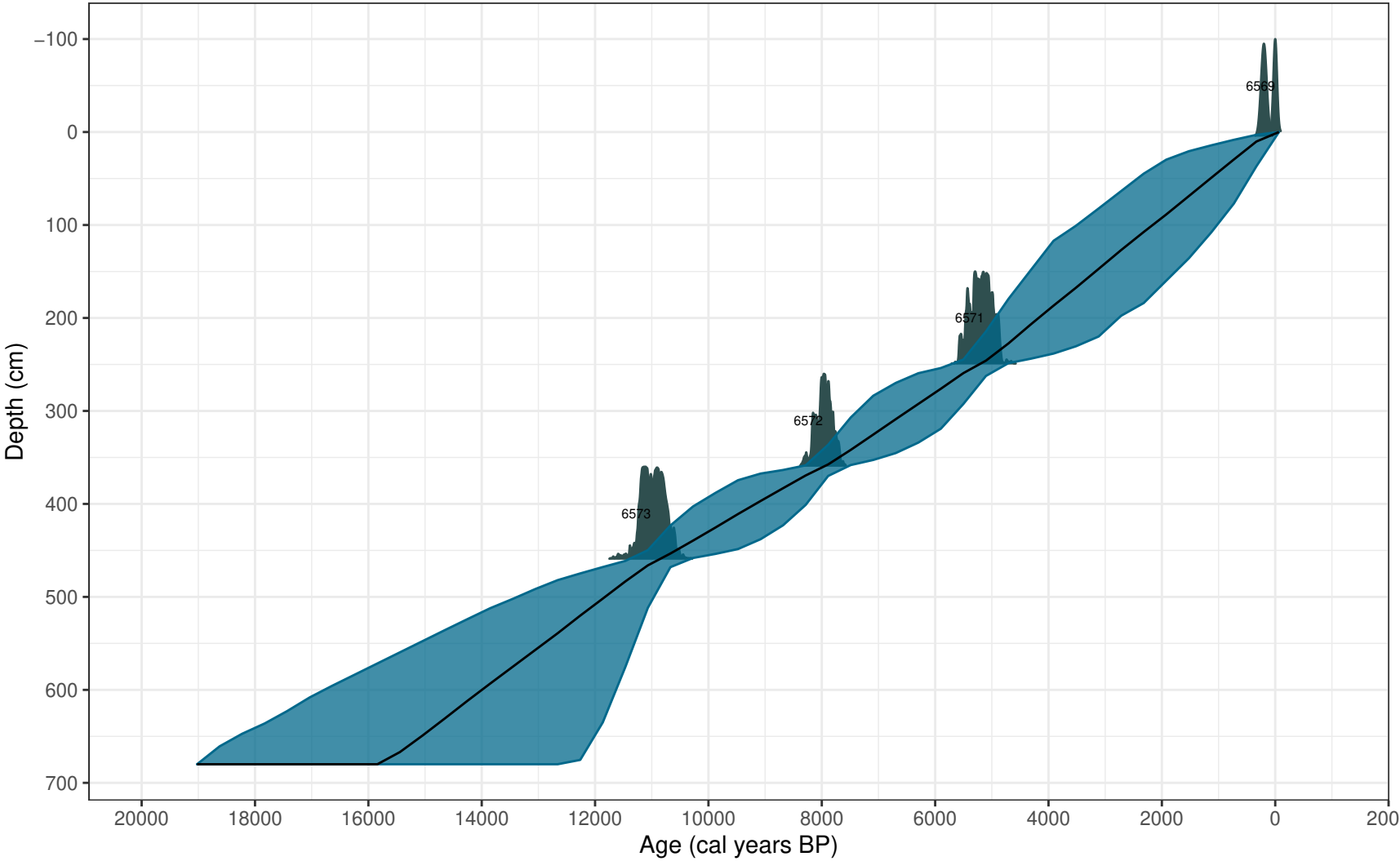

Silver Lake; Dataset ID 2385

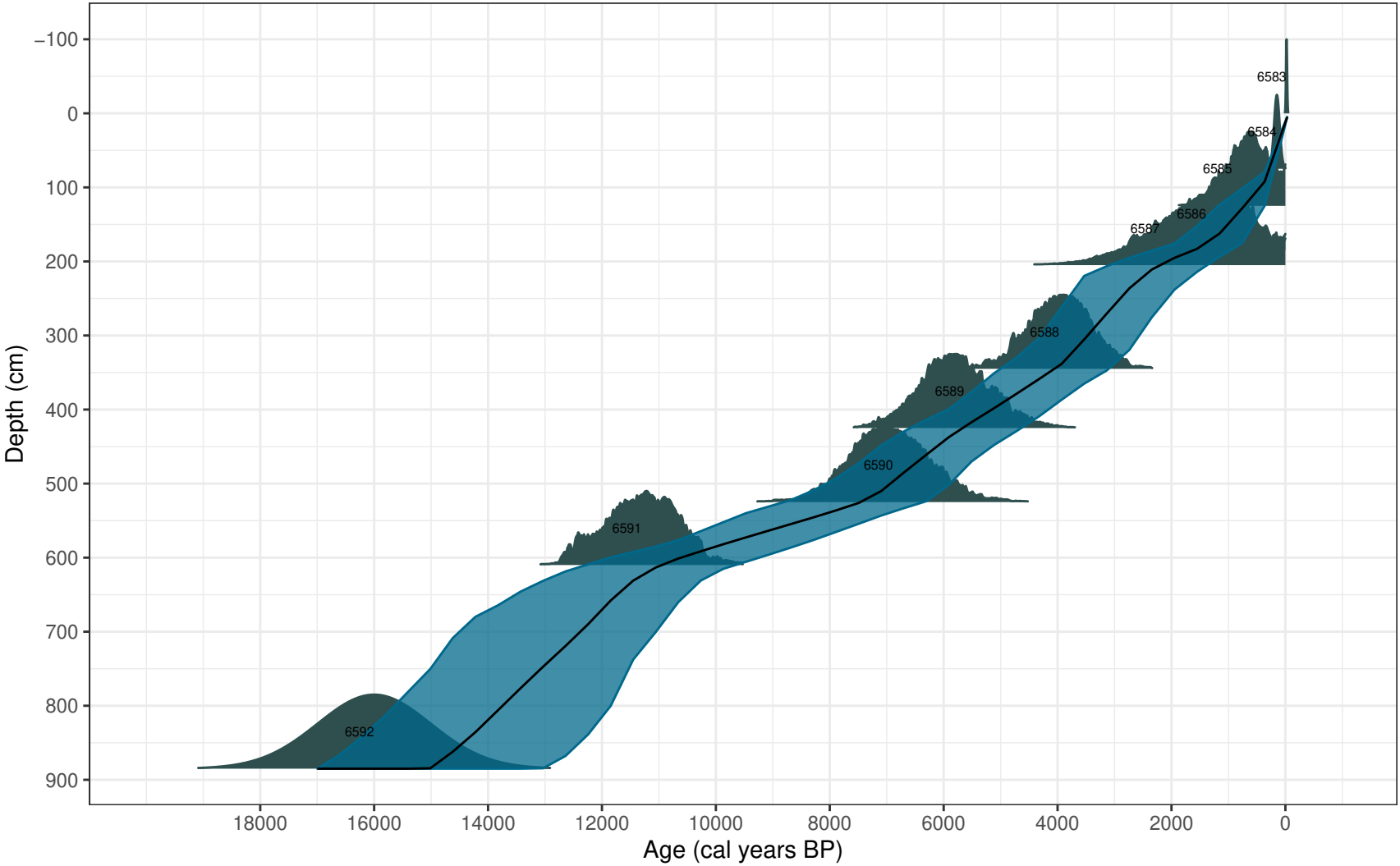

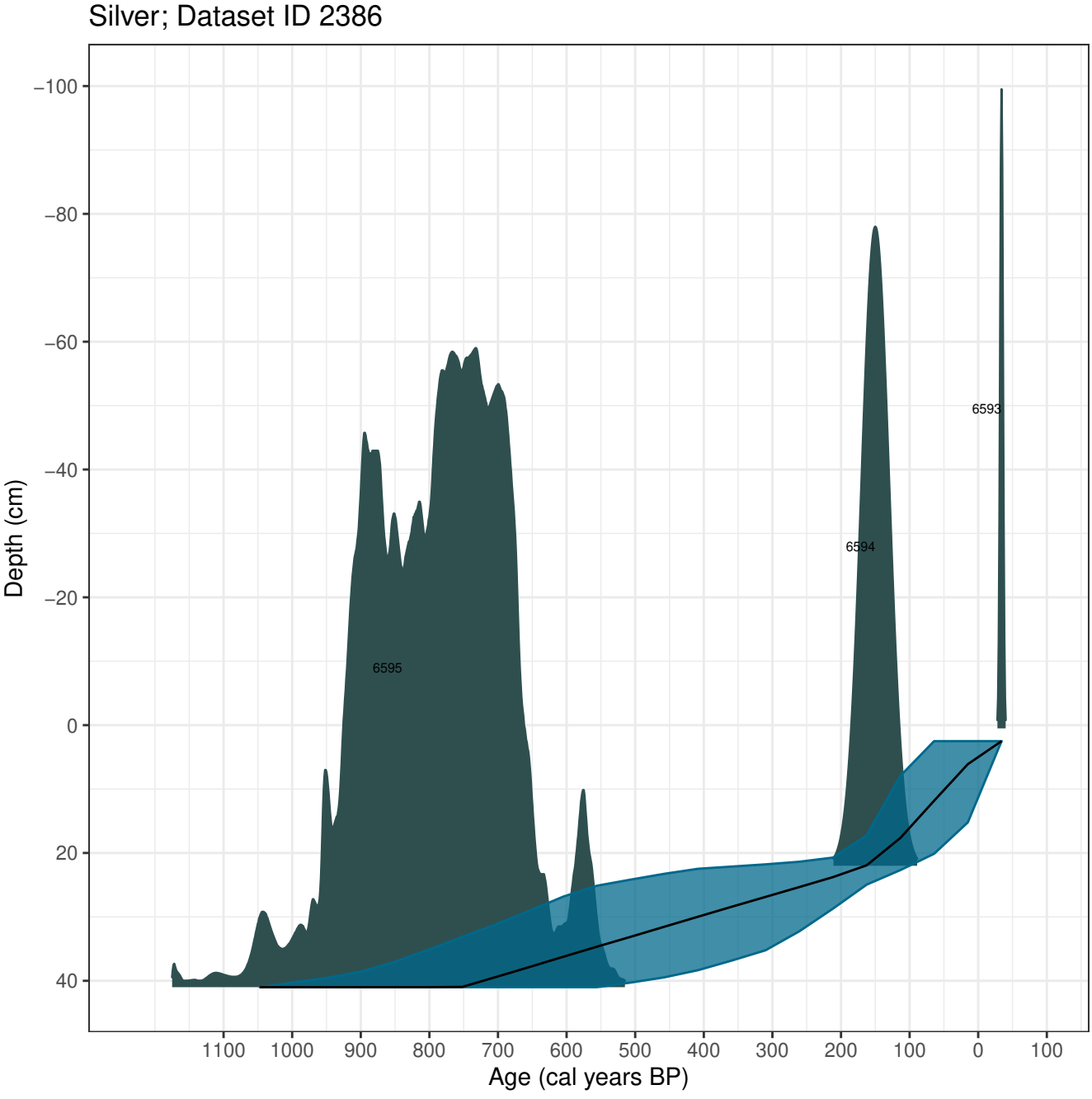
Silver; Dataset ID 2386
Depth (cm)
−100
−80
−60
−40
−20
0
20
40
6595
6594
6593
1100
1000
900
800
700
600
500
400
300
200
100
0
100
Age (cal years BP)

Battle Ground Lake; Dataset ID 239

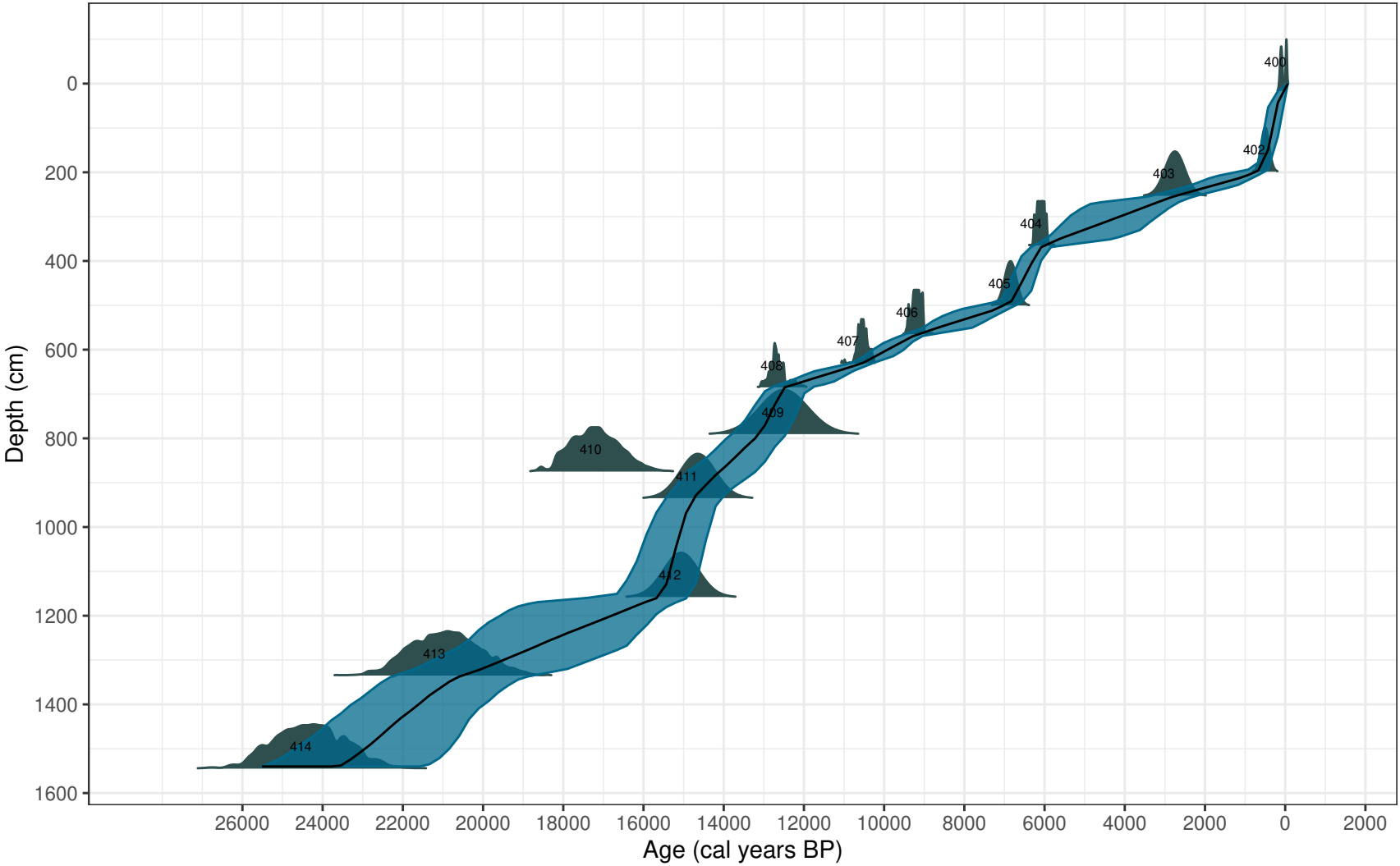

Sinkhole Pond; Dataset ID 2391

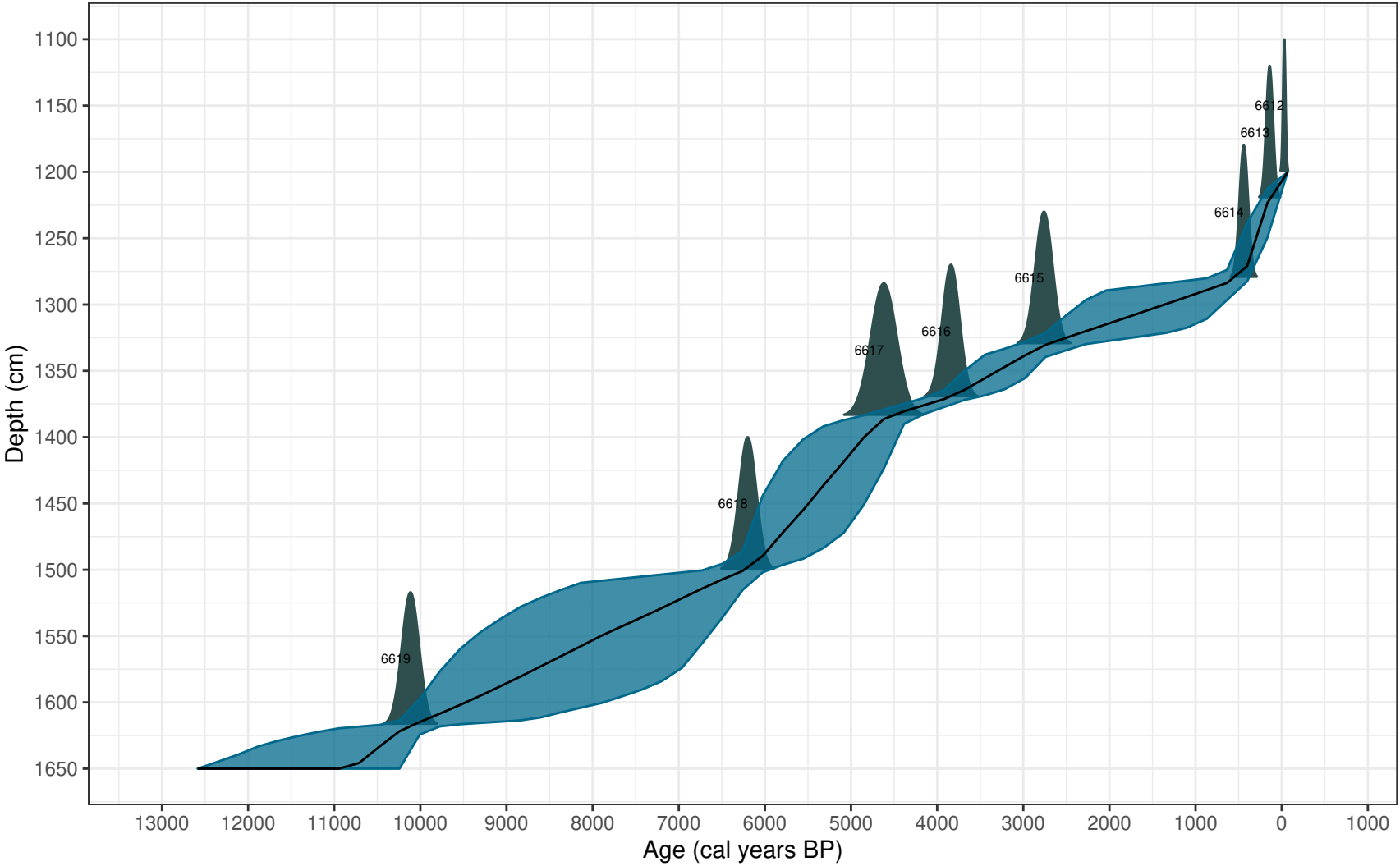

Sioux Pond; Dataset ID 2393

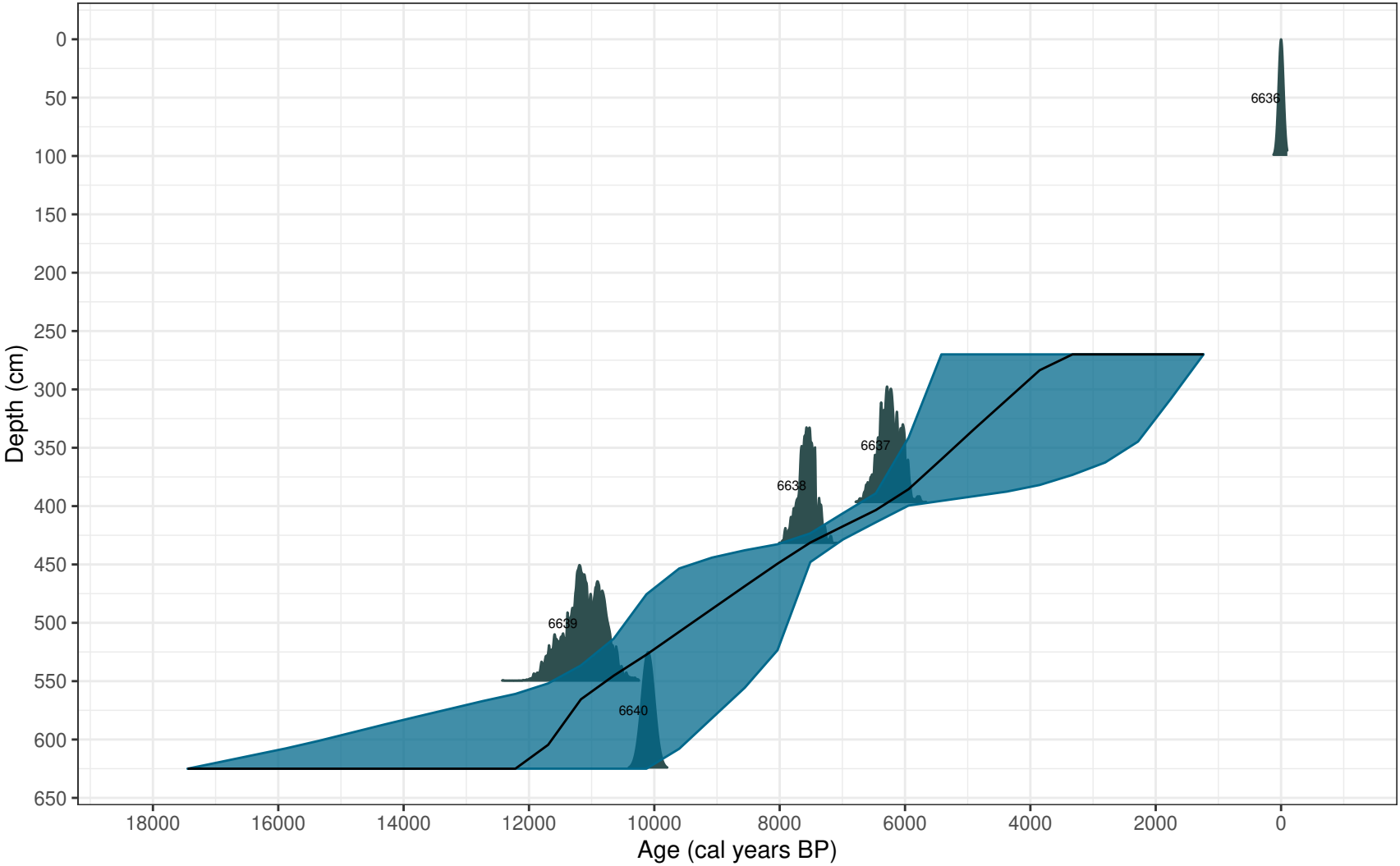

Battaglia Bog; Dataset ID 240

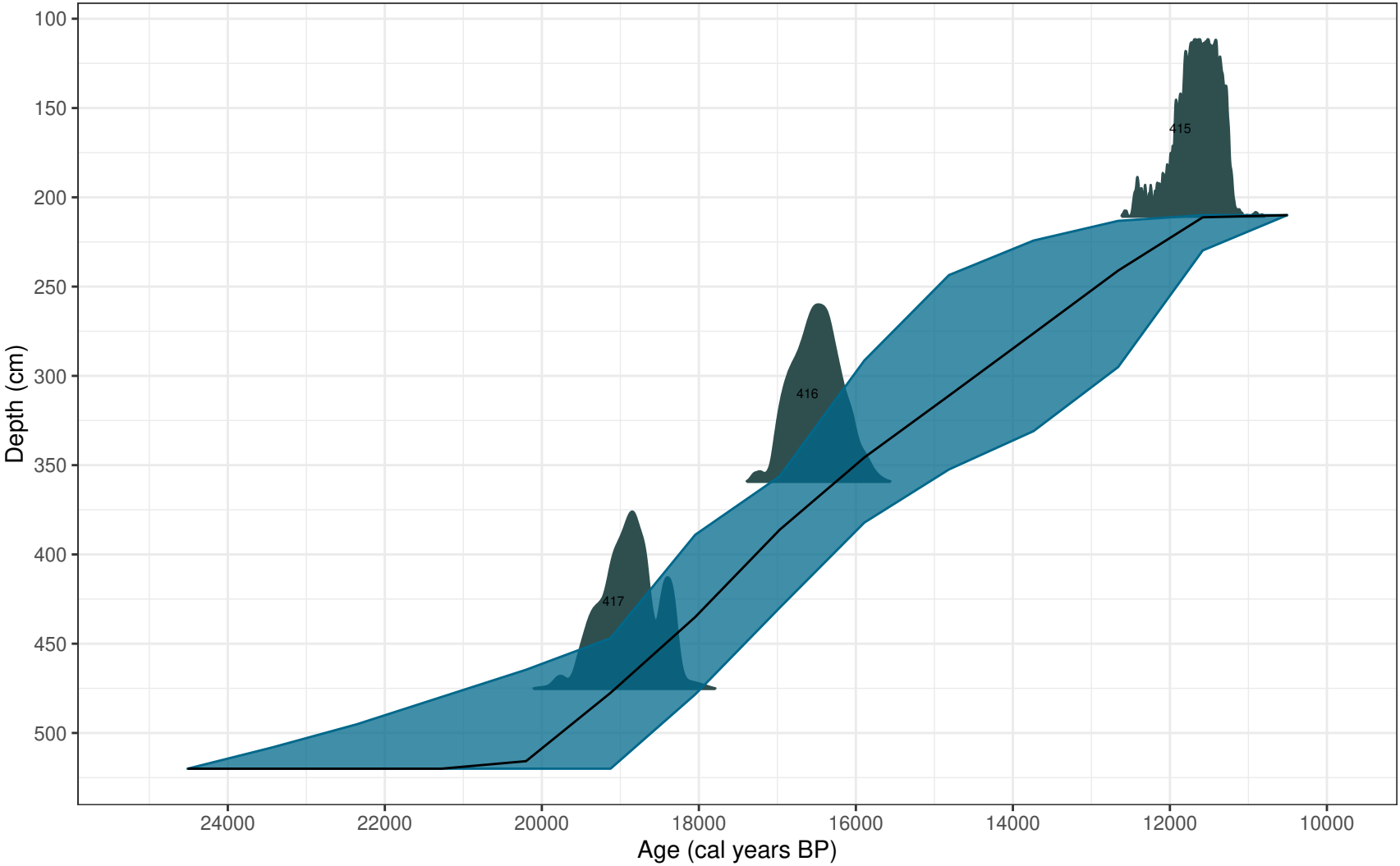

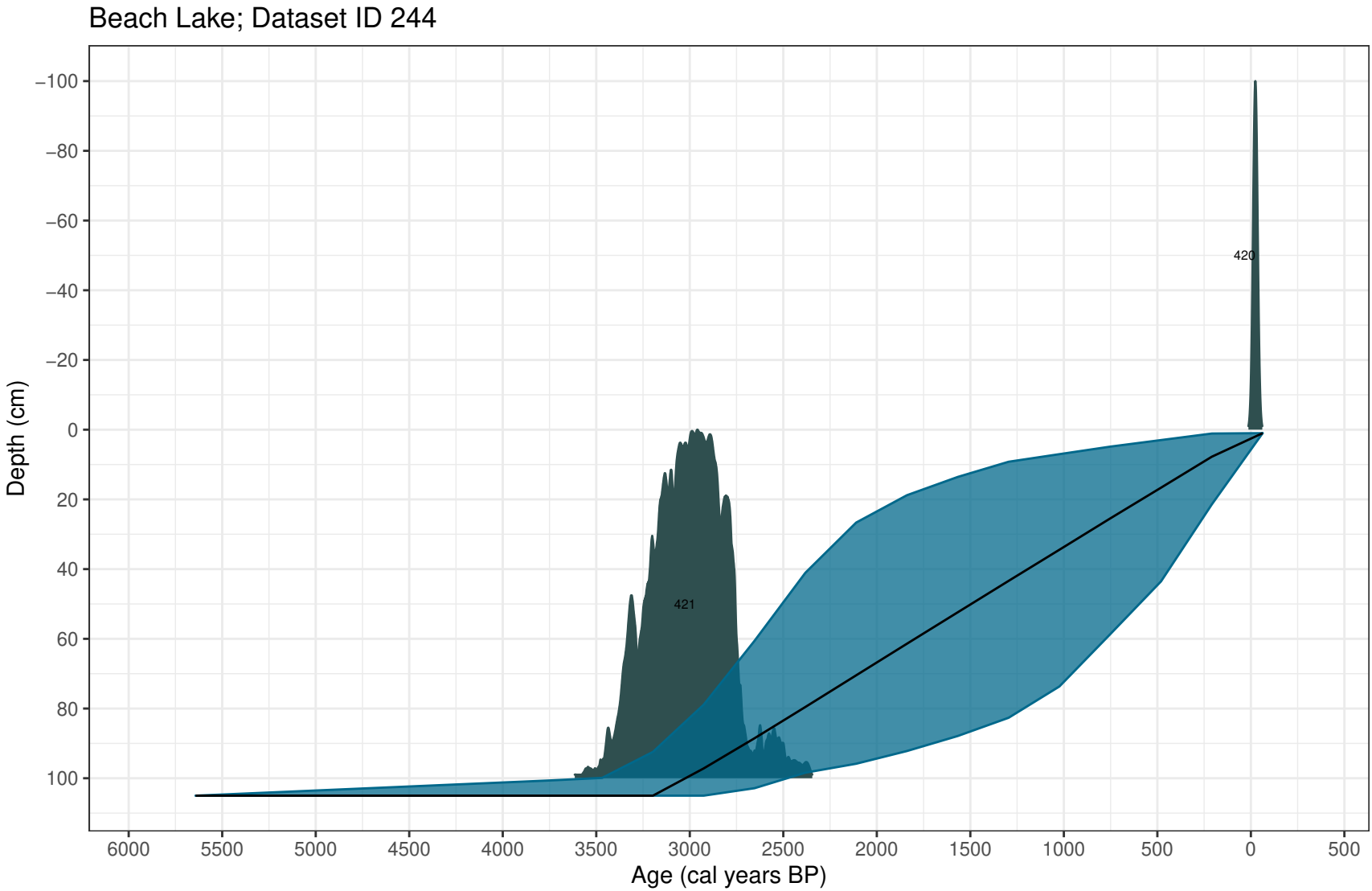
Beach Lake; Dataset ID 244
Depth (cm)
−100
−80
−60
−40
−20
0
20
40
60
80
100
420
421
6000
5500
5000
4500
4000
3500
3000
2500
2000
1500
1000
500
0
500
Age (cal years BP)

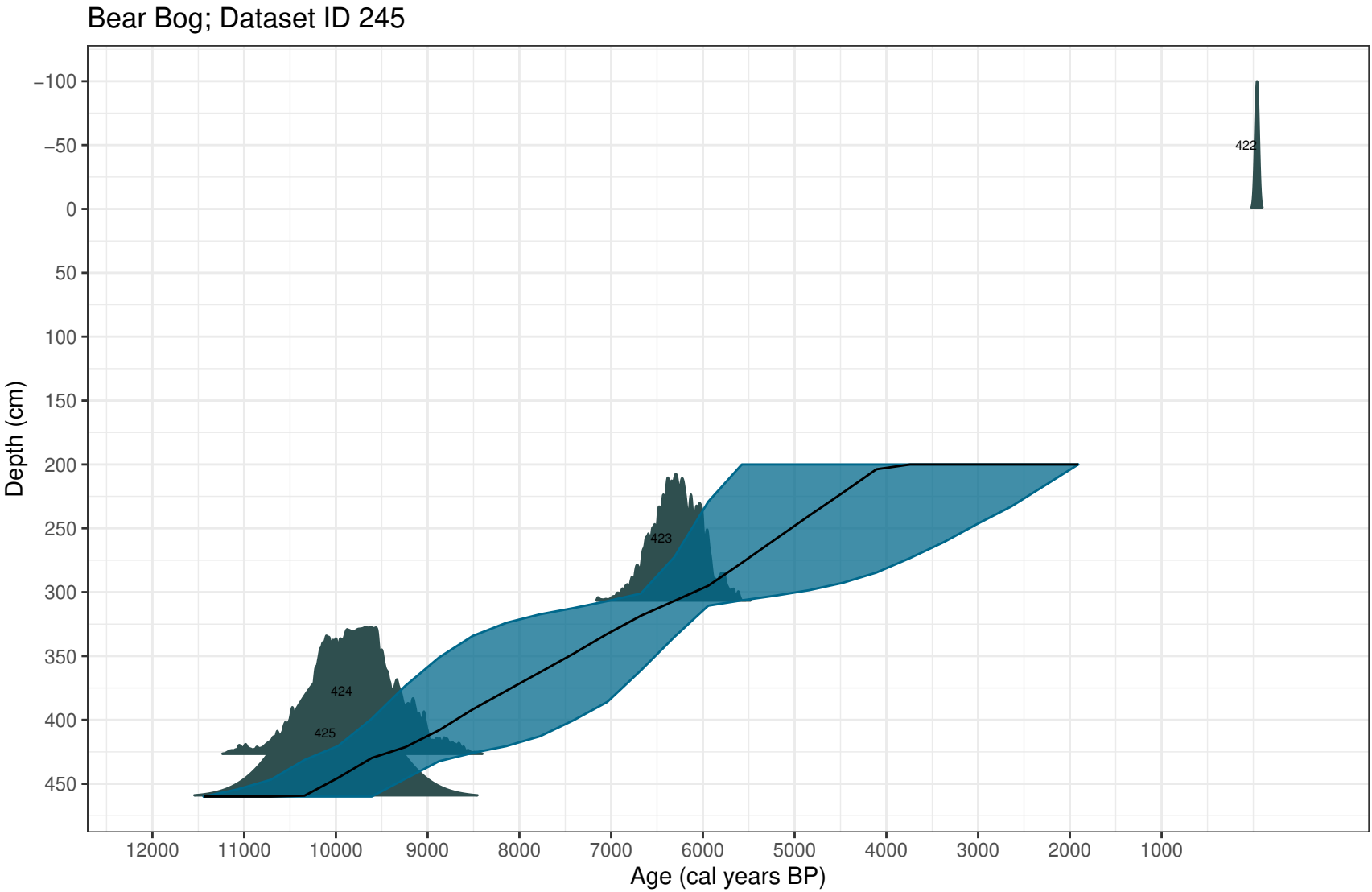
Bear Bog; Dataset ID 245
Depth (cm)
−100
−50
0
50
100
150
200
250
300
350
400
450
422
423
424
425
12000
11000
10000
9000
8000
7000
6000
5000
4000
3000
2000
1000
Age (cal years BP)

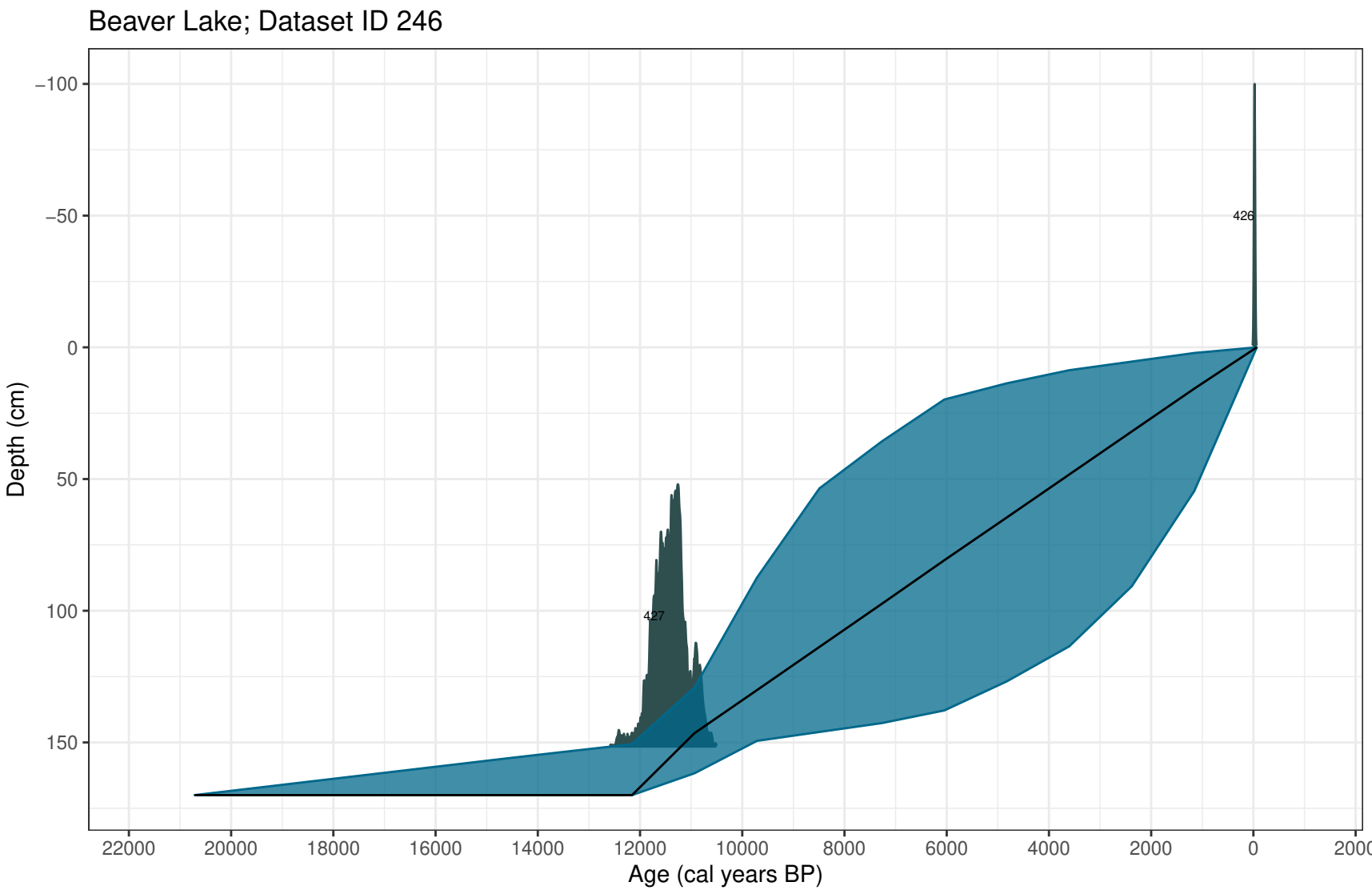
Beaver Lake; Dataset ID 246
Depth (cm)
−100
−50
0
50
100
150
426
427
22000
20000
18000
16000
14000
12000
10000
8000
6000
4000
2000
0
2000
Age (cal years BP)

Bechan Cave; Dataset ID 247

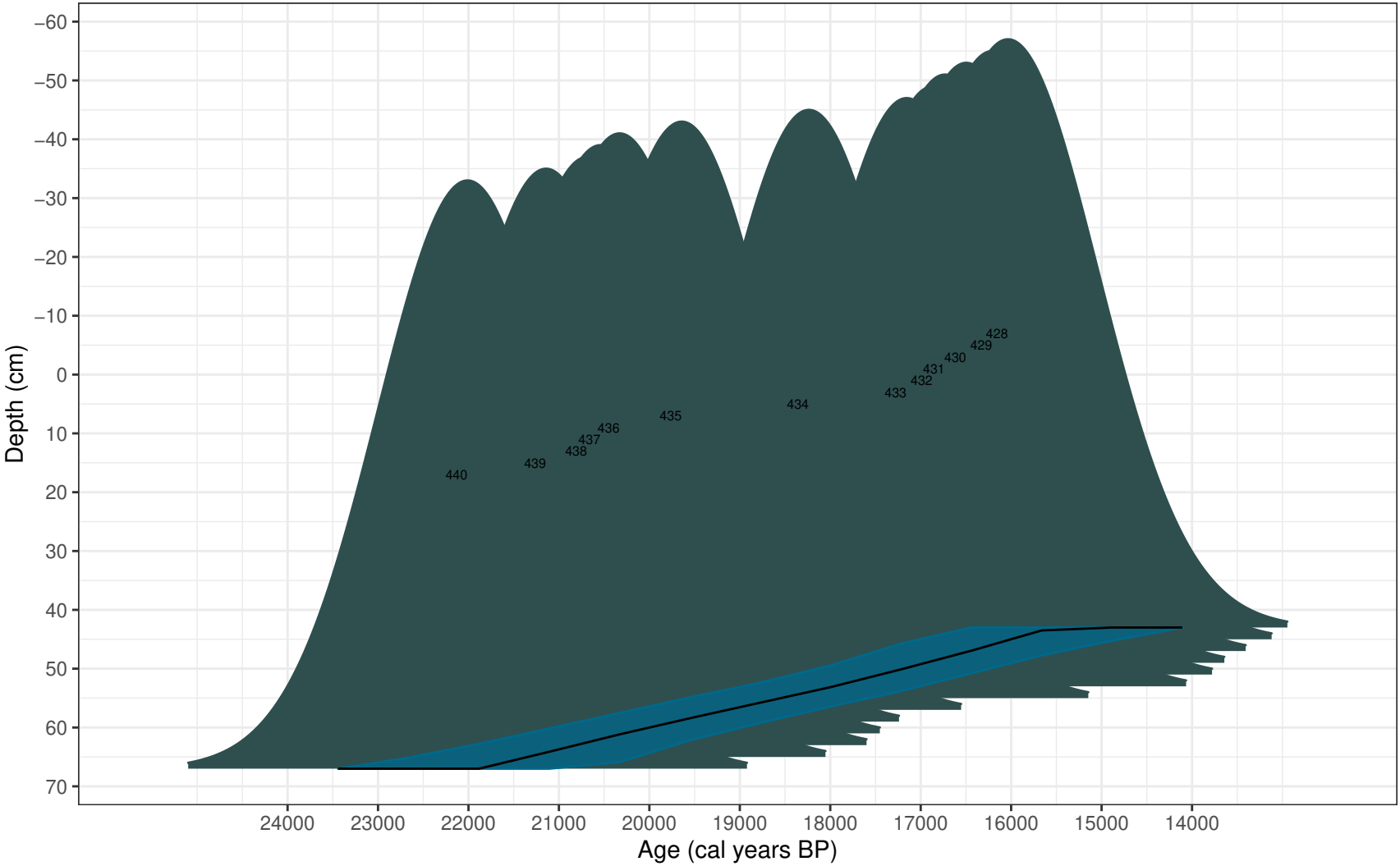

Sleet Lake; Dataset ID 2476

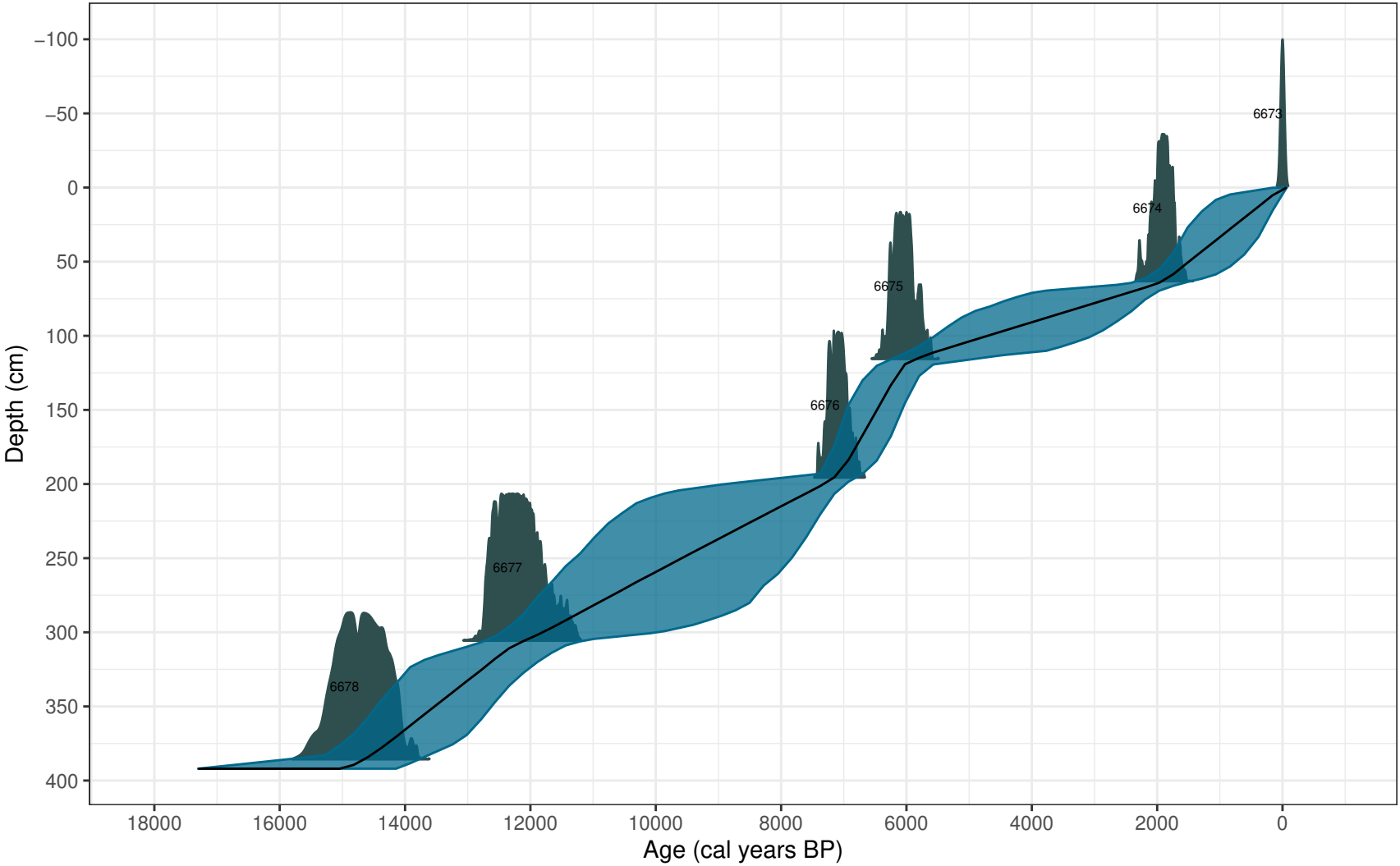

Beckman Lake; Dataset ID 249

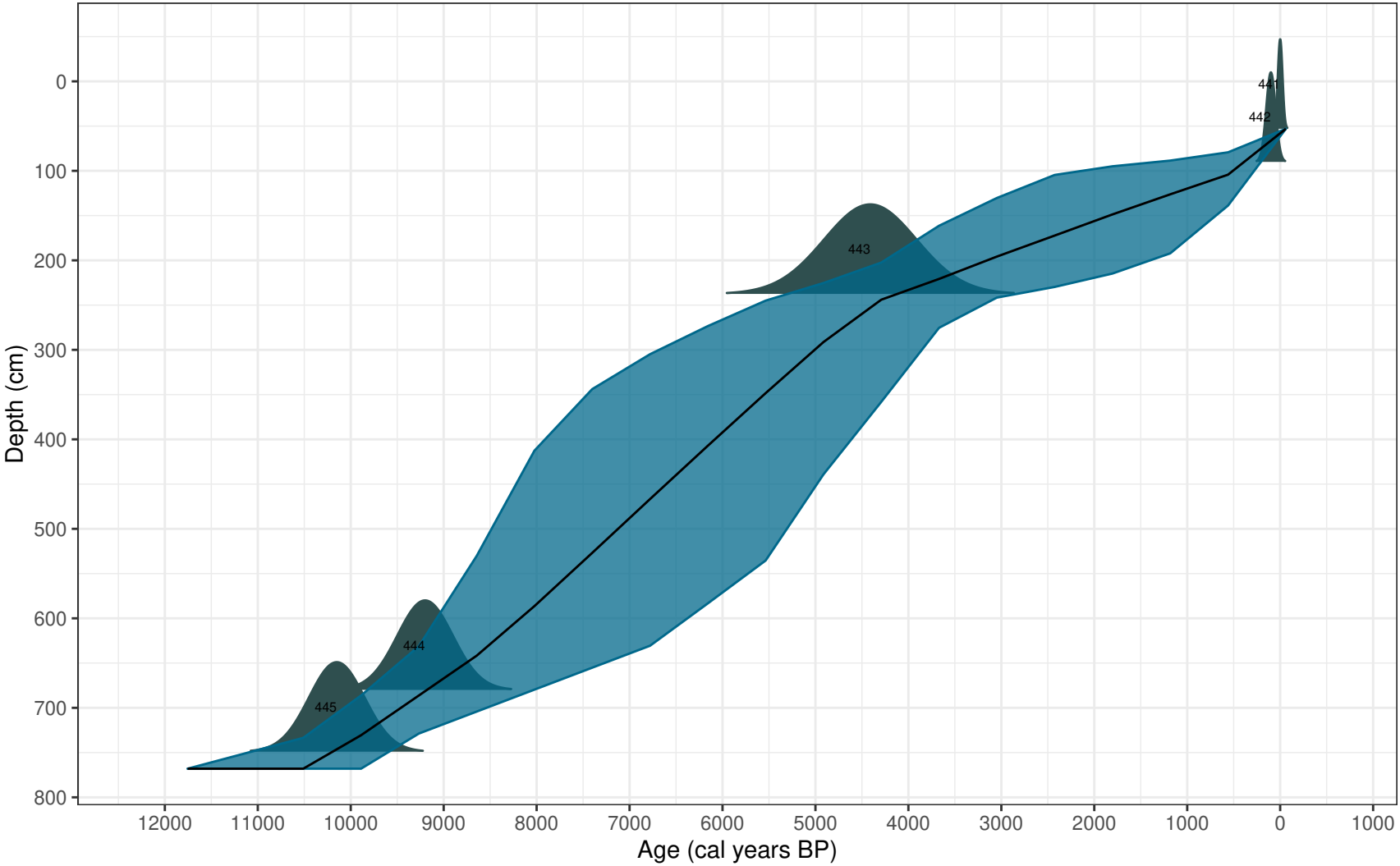

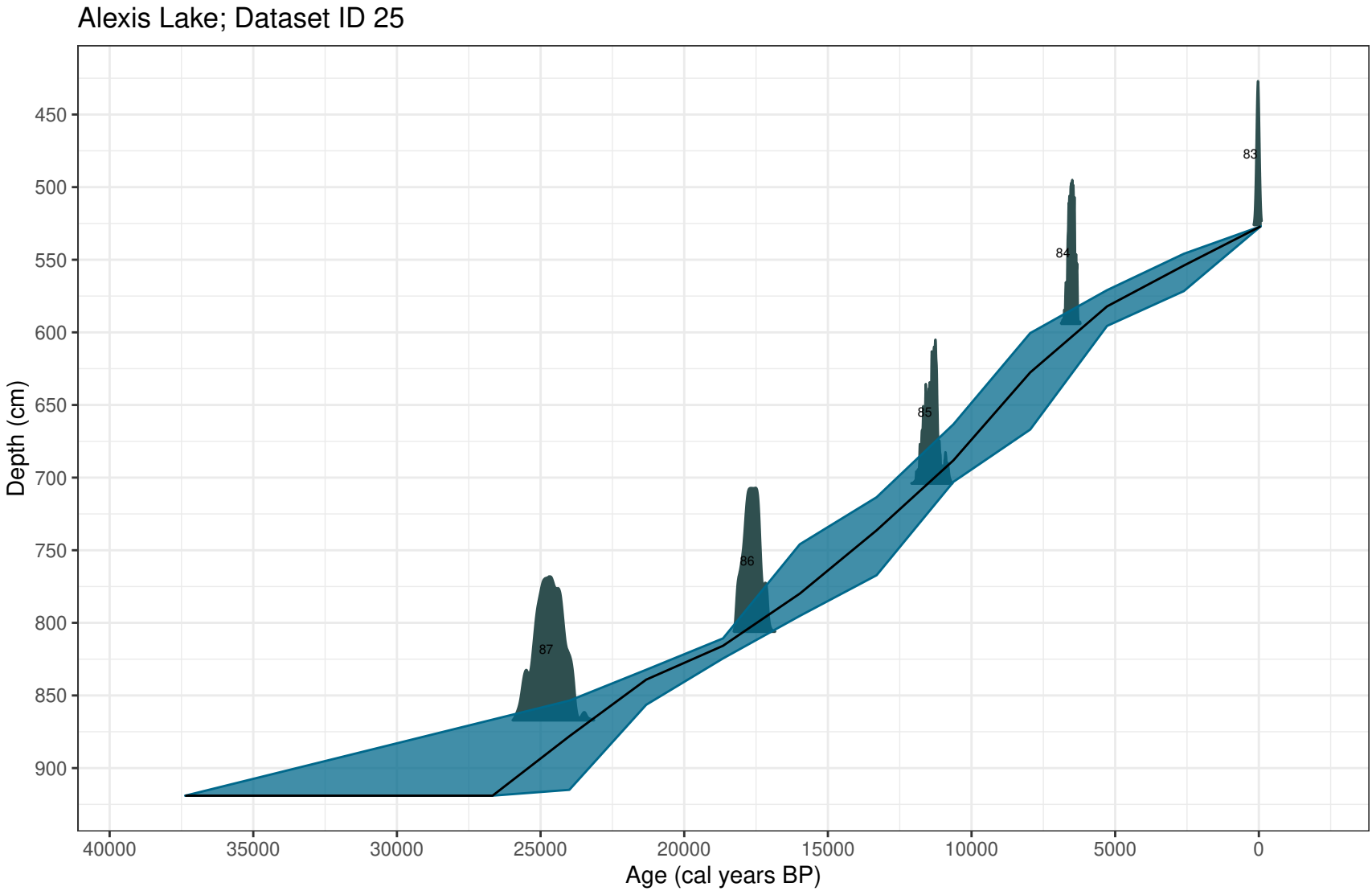
Alexis Lake; Dataset ID 25
Depth (cm)
450
500
550
600
650
700
750
800
850
900
83
84
85
86
87
40000
35000
30000
25000
20000
15000
10000
5000
0
Age (cal years BP)

Beef Pasture; Dataset ID 250

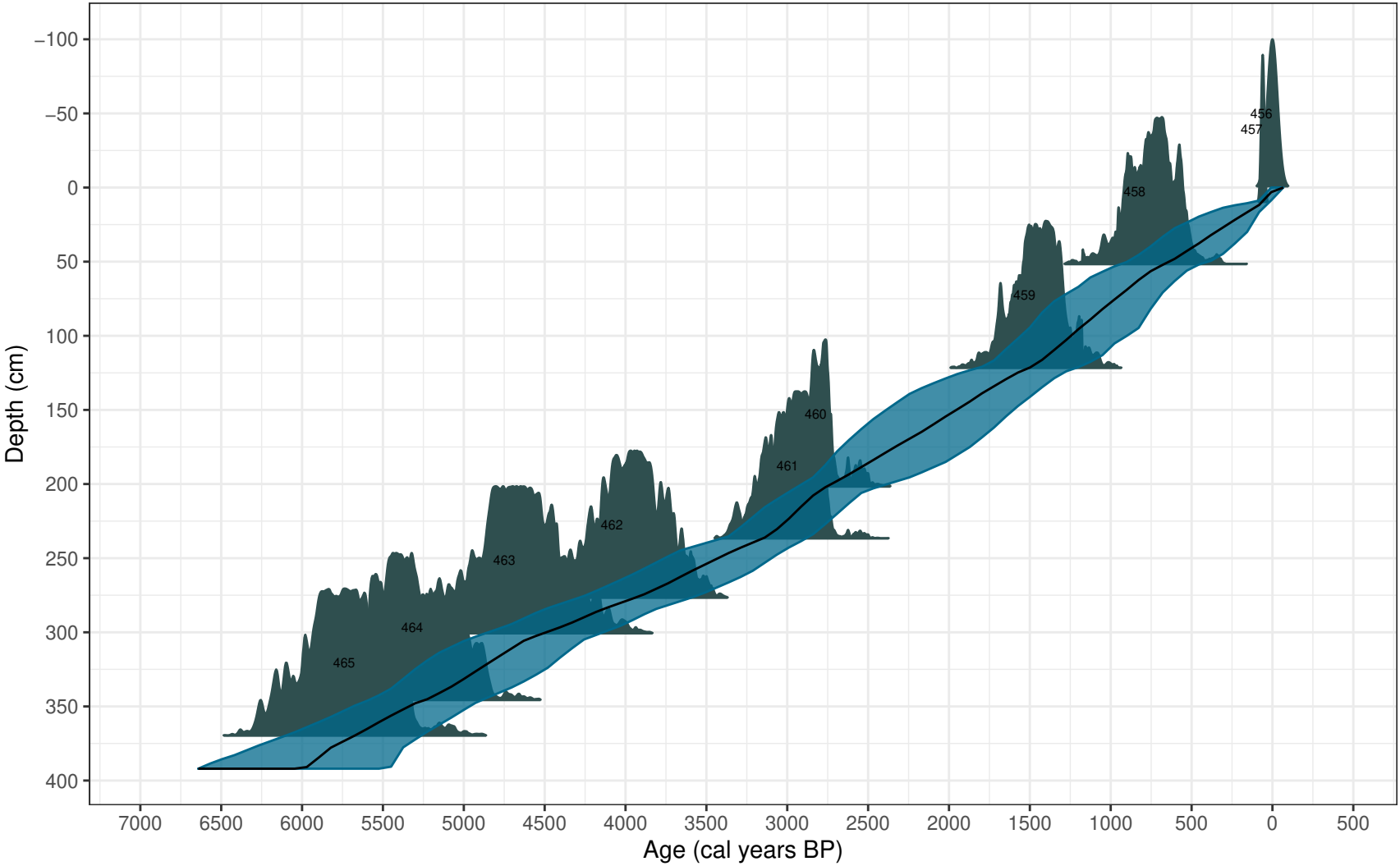

Bell's Lake; Dataset ID 253

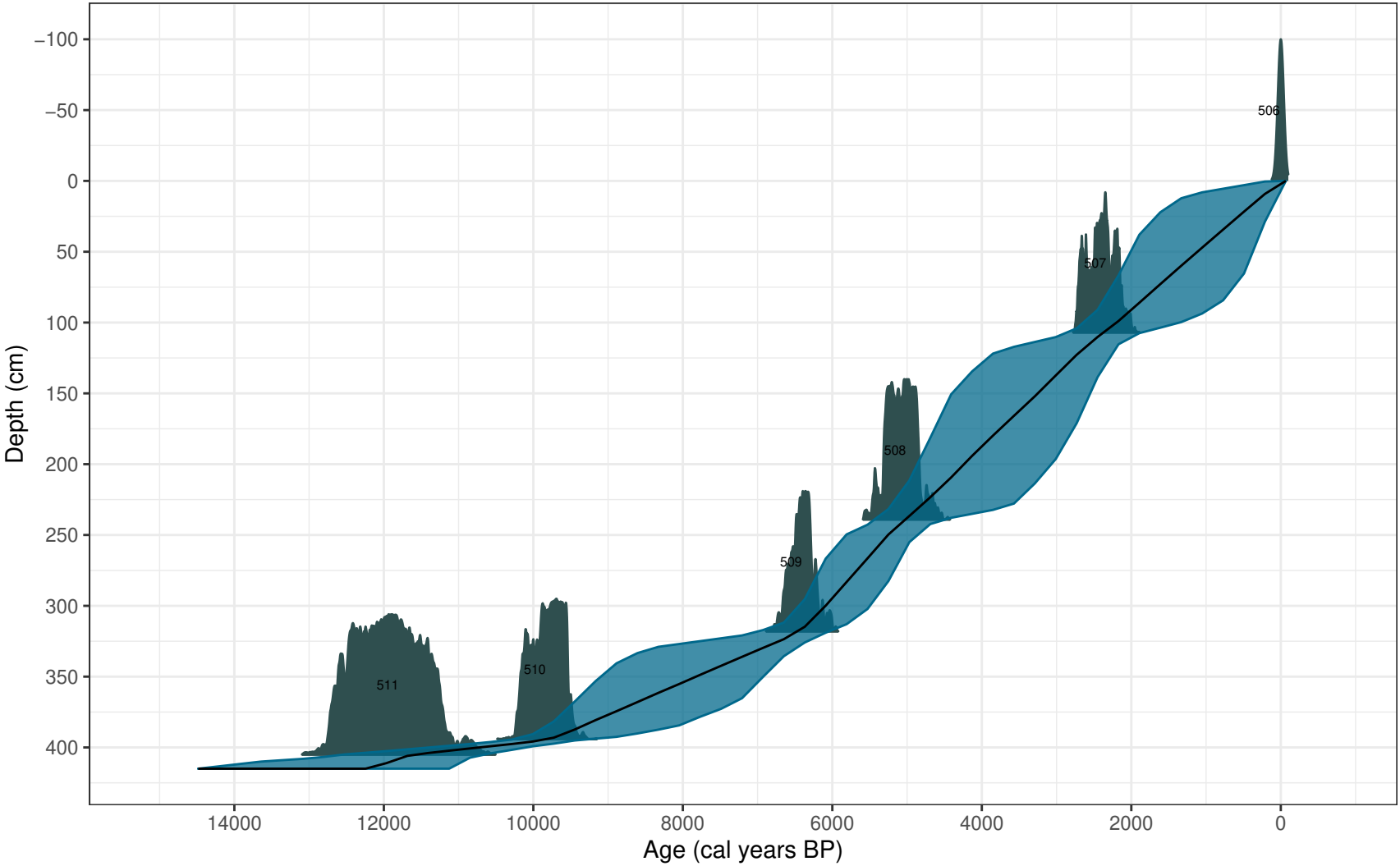

Belmont Bog; Dataset ID 254

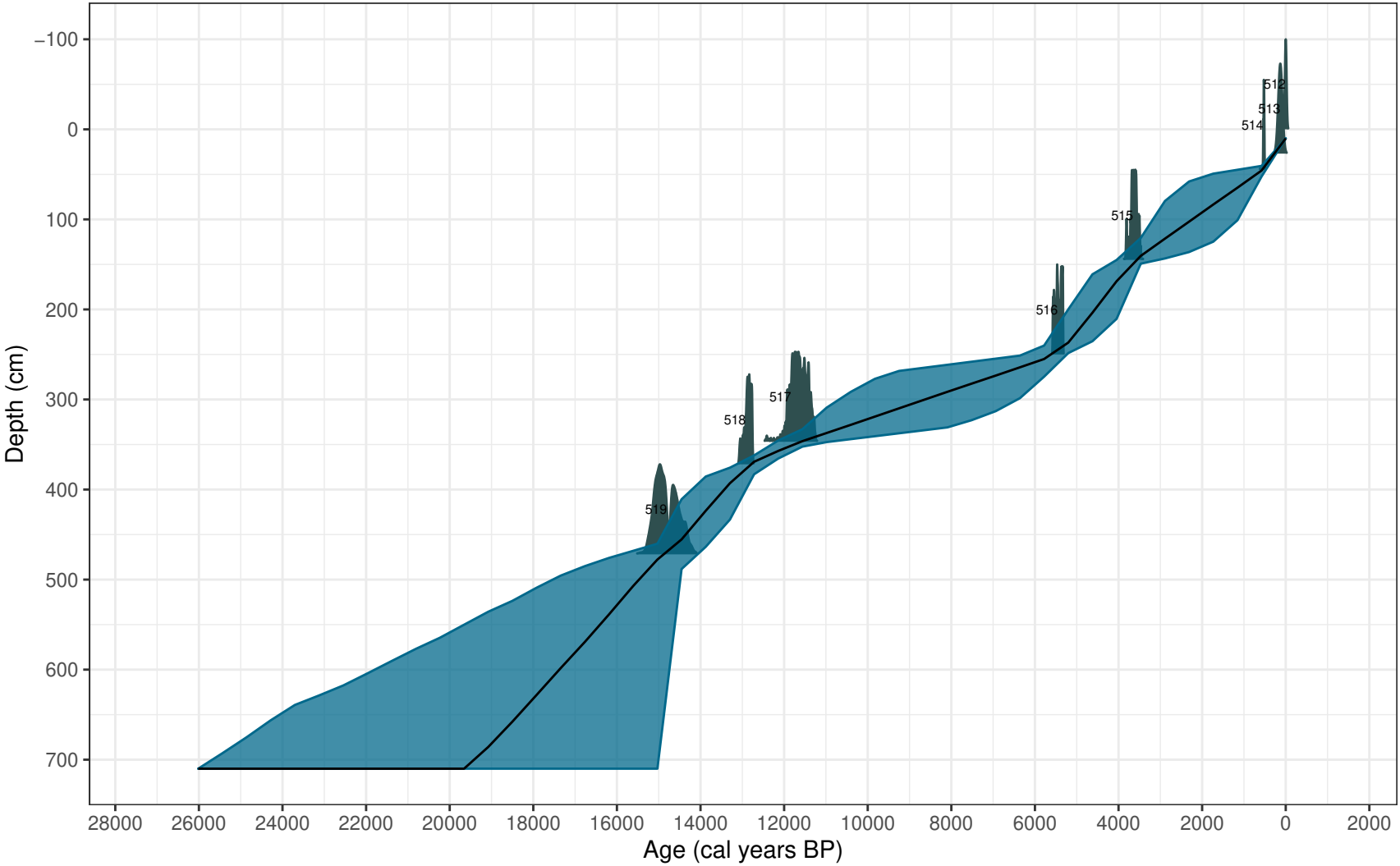

Slough Creek Pond; Dataset ID 2576

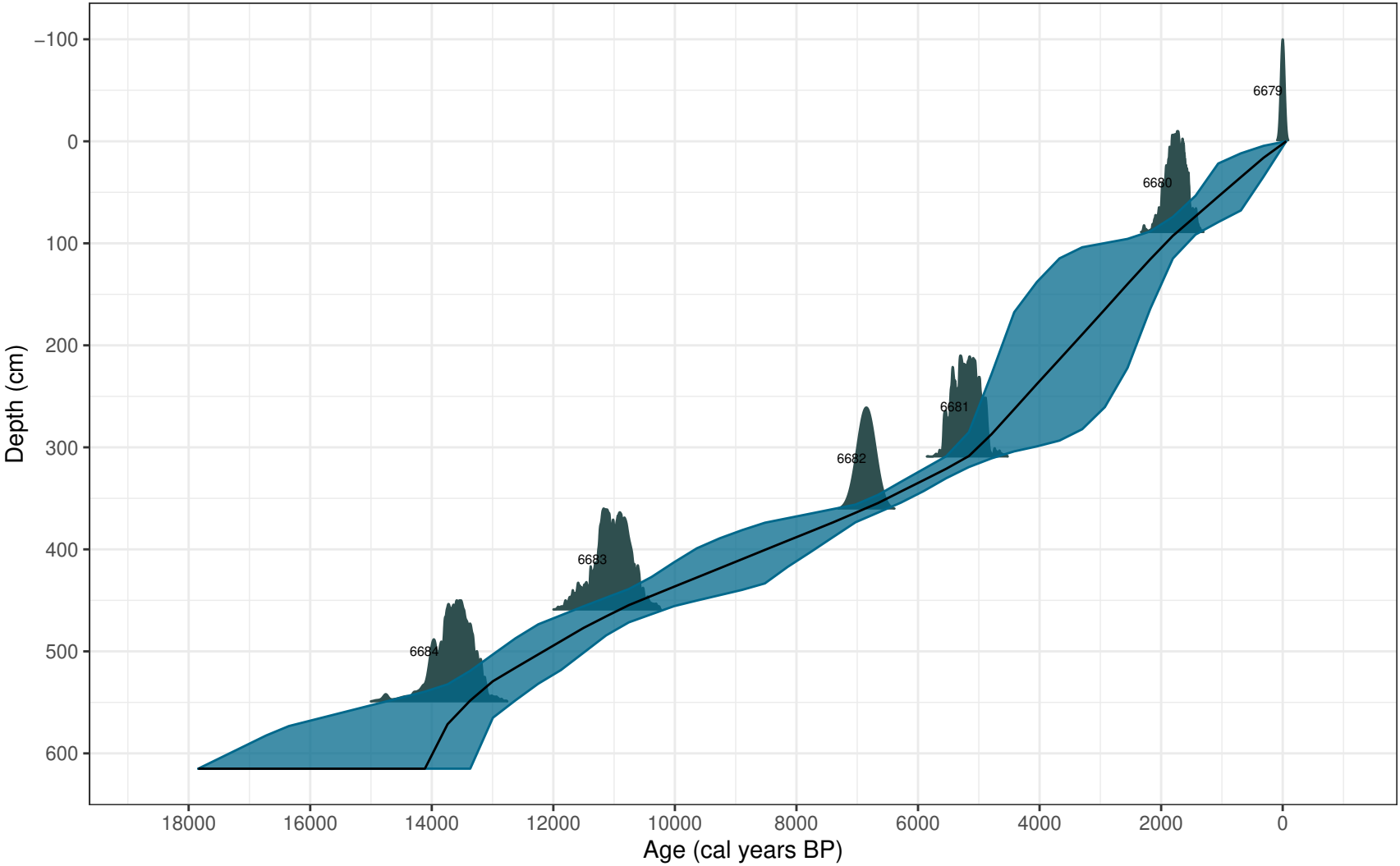

Slow River; Dataset ID 2577

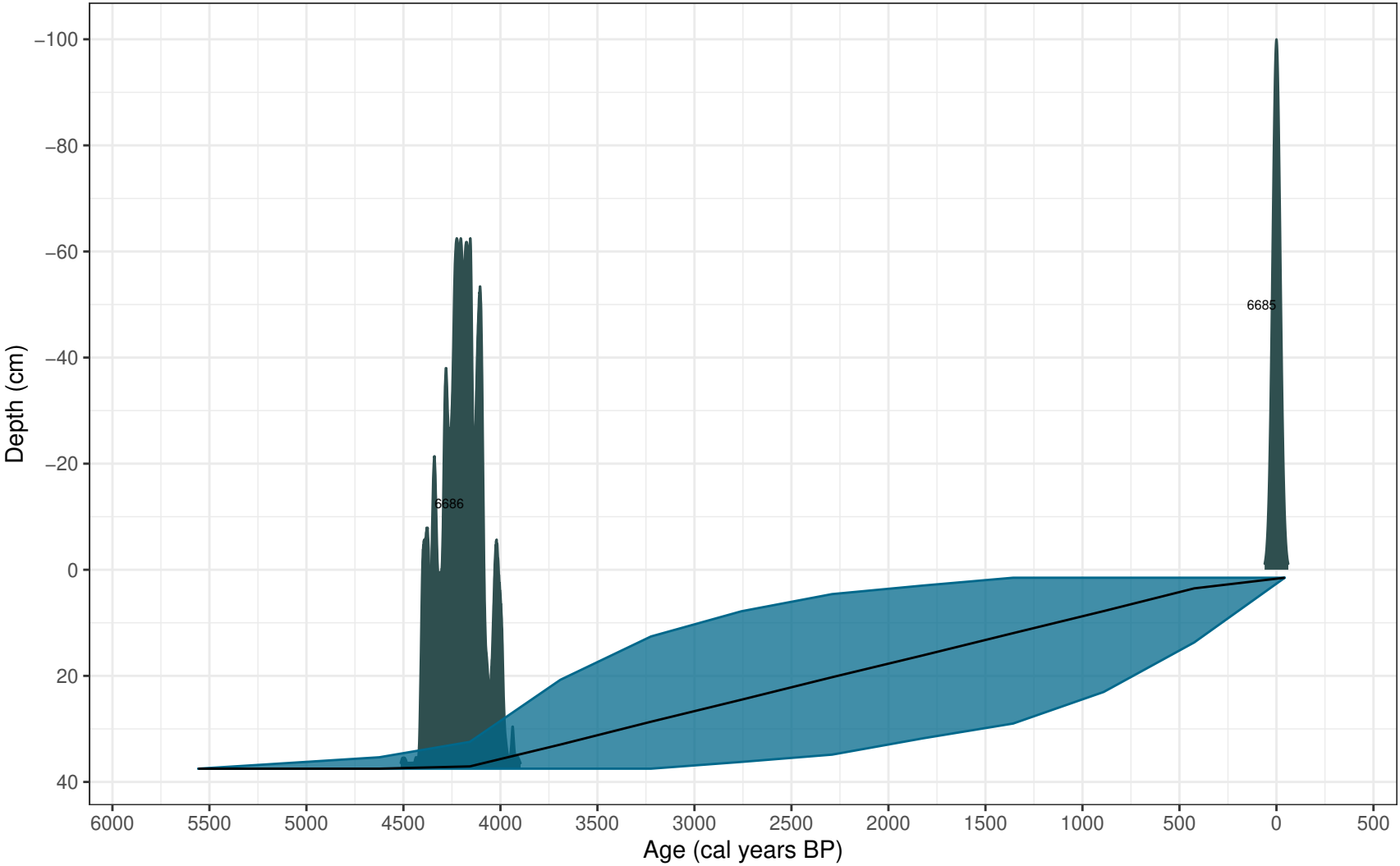

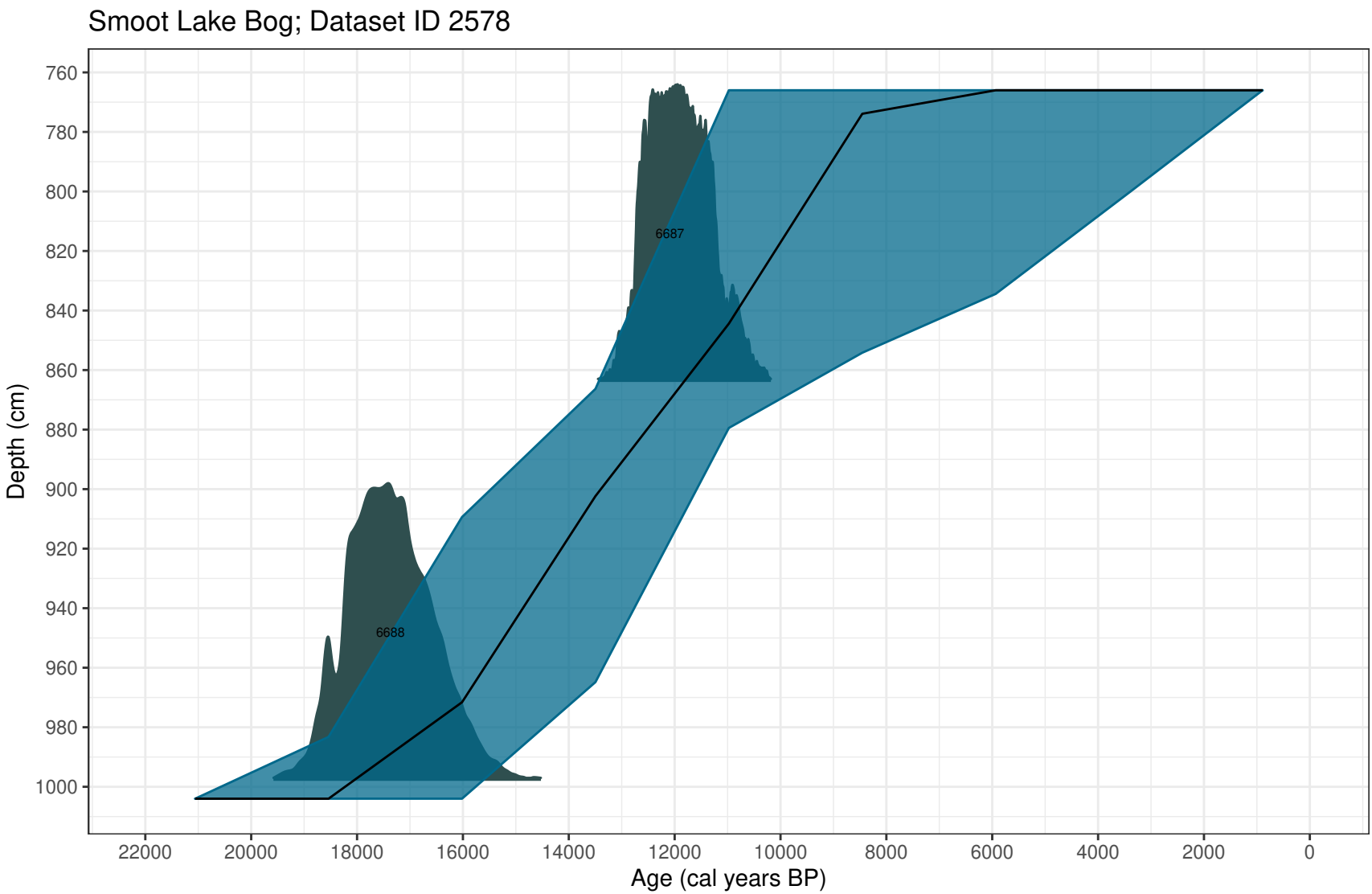
Smoot Lake Bog; Dataset ID 2578
Depth (cm)
760
780
800
820
840
860
880
900
920
940
960
980
1000
6687
6688
22000
20000
18000
16000
14000
12000
10000
8000
6000
4000
2000
0
Age (cal years BP)

Bereziuk; Dataset ID 258

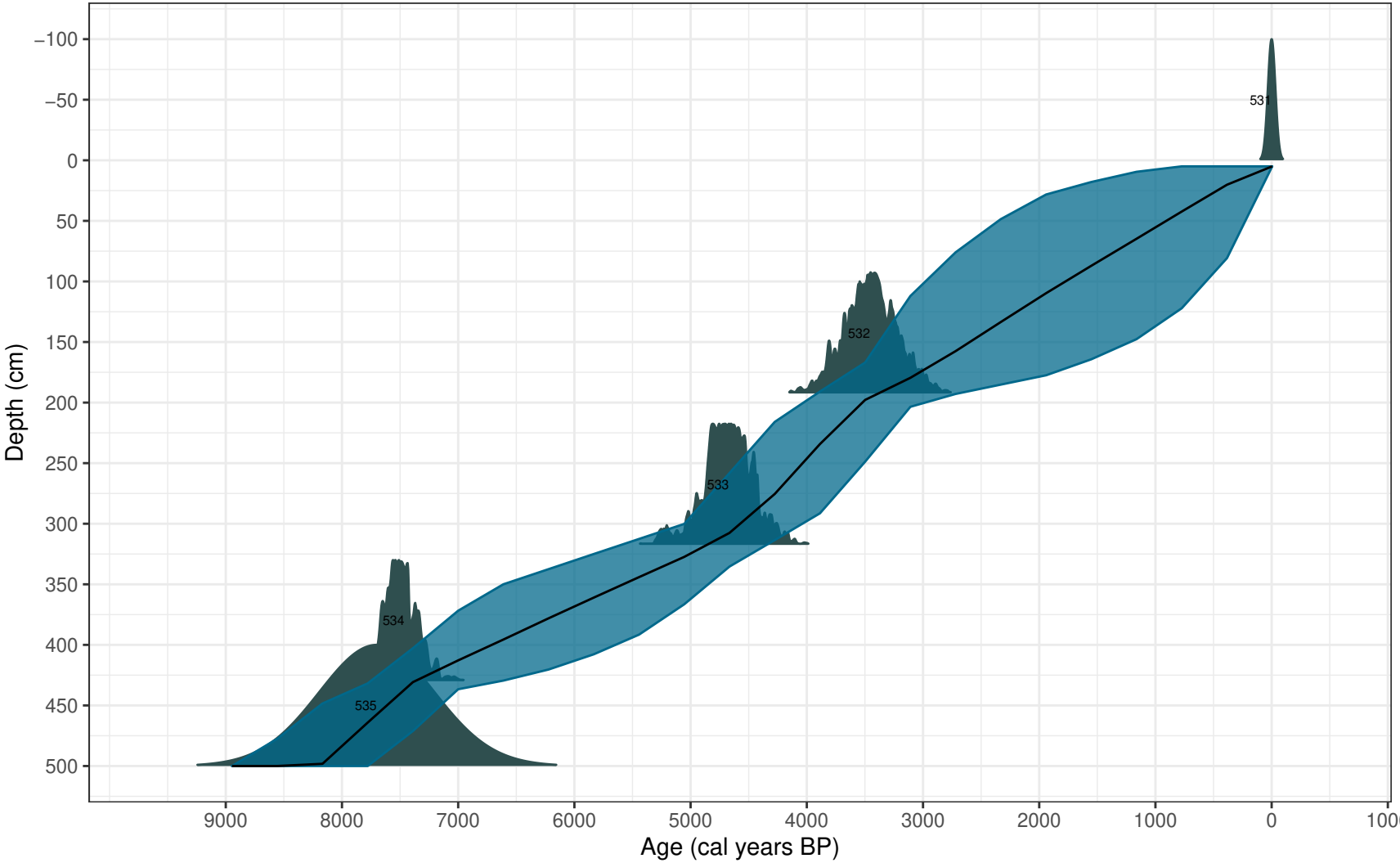

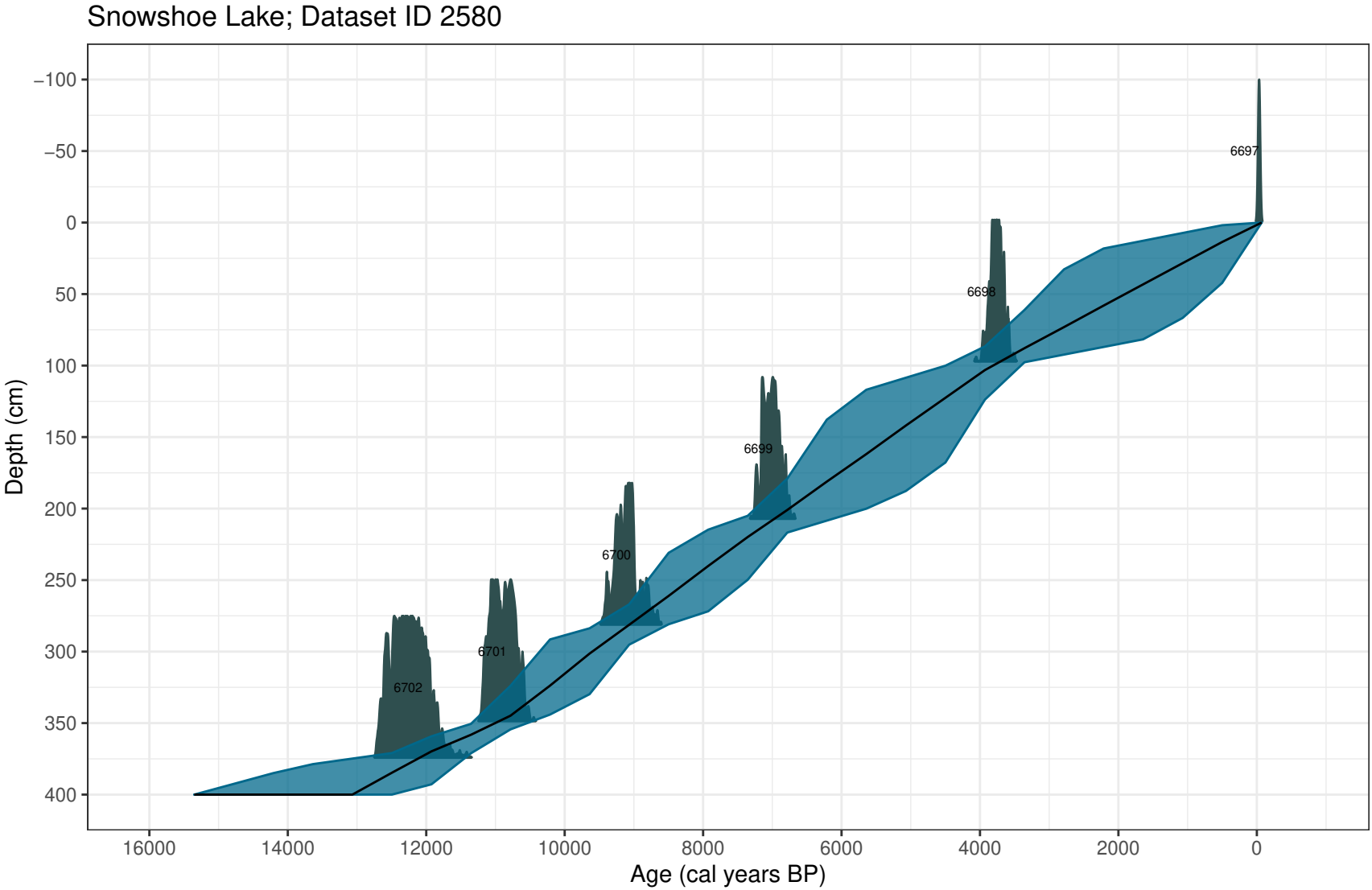
Snowshoe Lake; Dataset ID 2580
Depth (cm)
−100
−50
0
50
100
150
200
250
300
350
400
16000
14000
12000
10000
8000
6000
4000
2000
0
Age (cal years BP)
6697
6698
6699
6700
6701
6702

Splains Lake; Dataset ID 2588

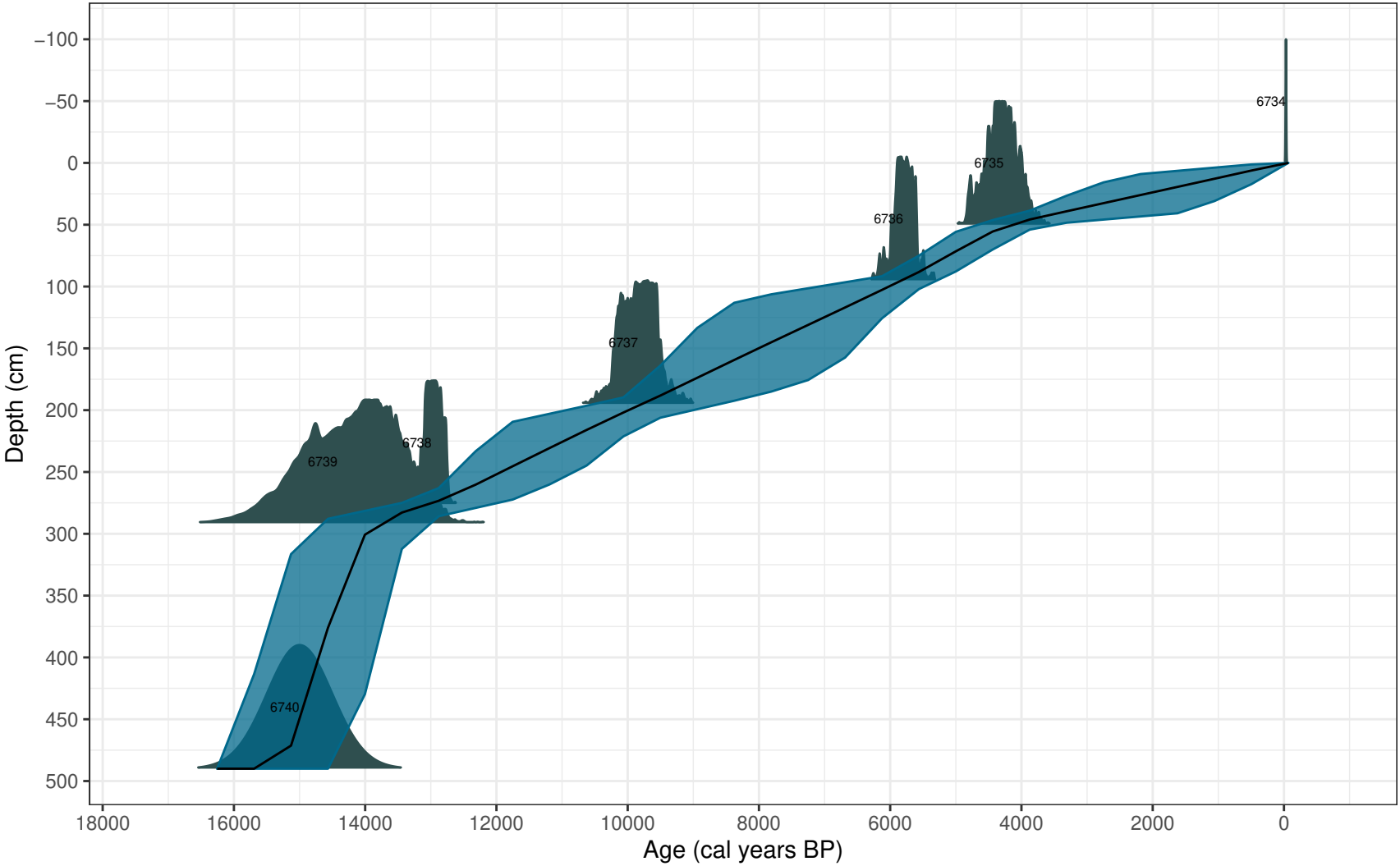

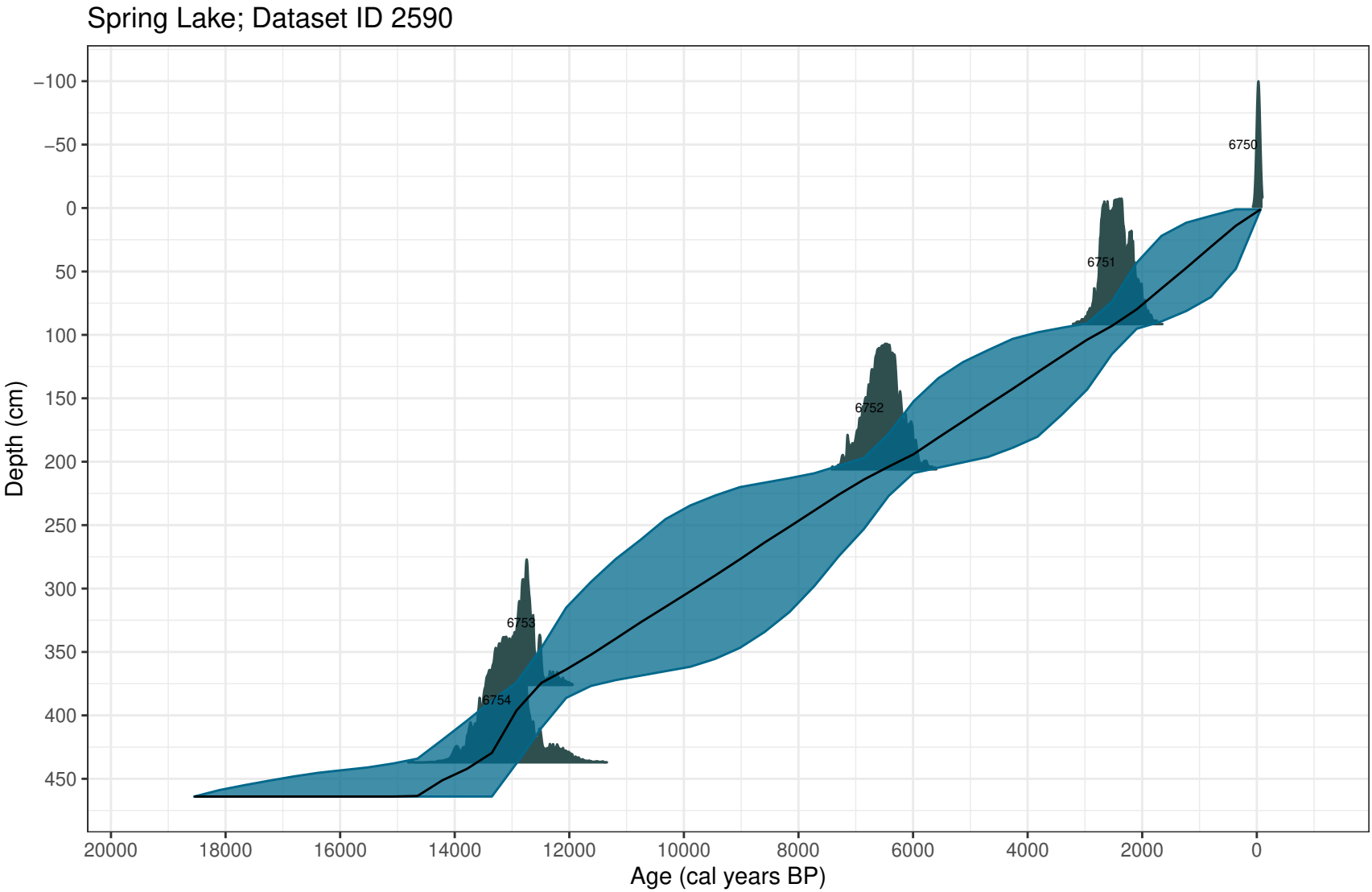
Spring Lake; Dataset ID 2590
Depth (cm)
−100
−50
0
50
100
150
200
250
300
350
400
450
6750
6751
6752
6753
6754
20000
18000
16000
14000
12000
10000
8000
6000
4000
2000
0
Age (cal years BP)

Spring Lake; Dataset ID 2591

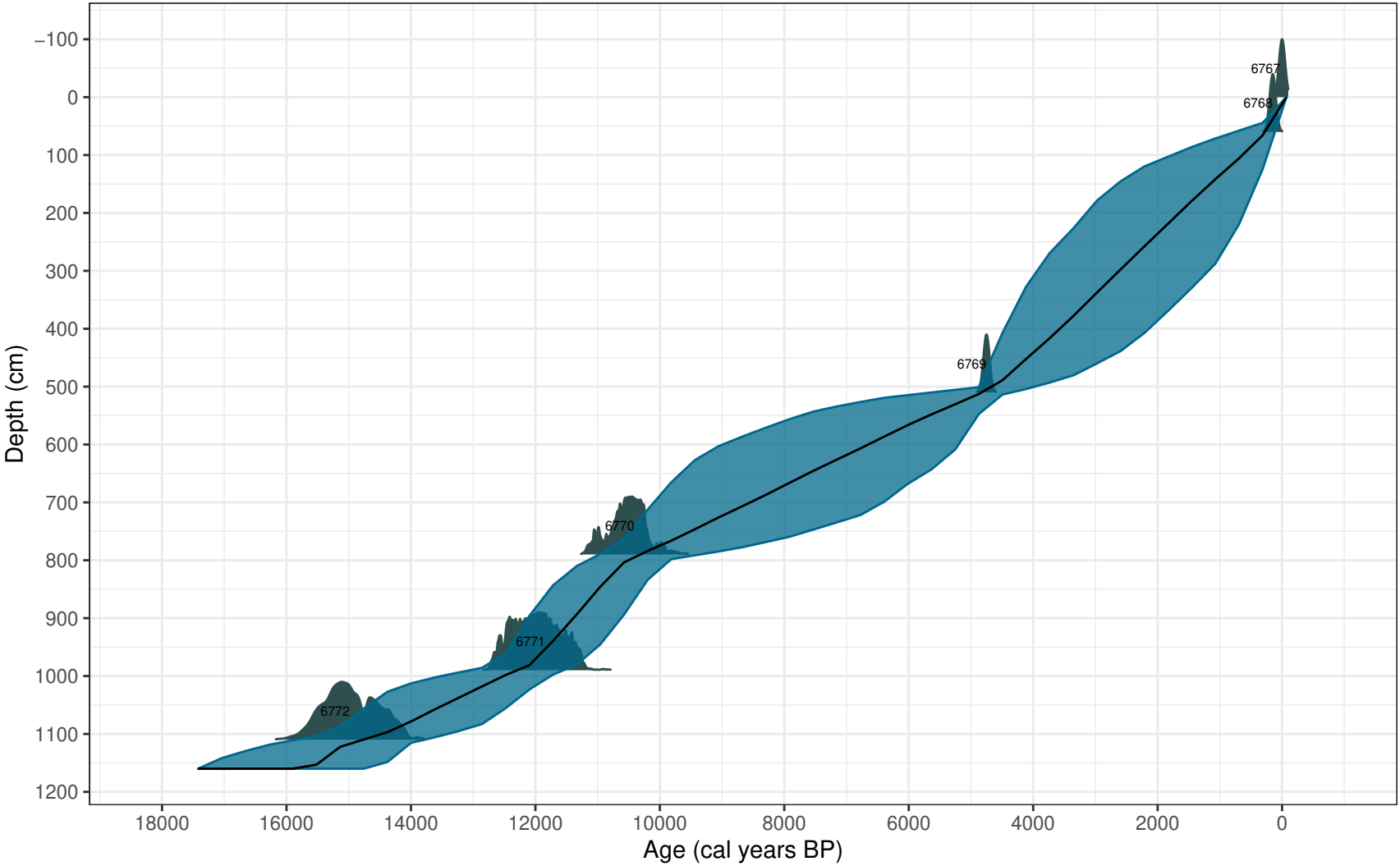

Spruce Pond; Dataset ID 2593

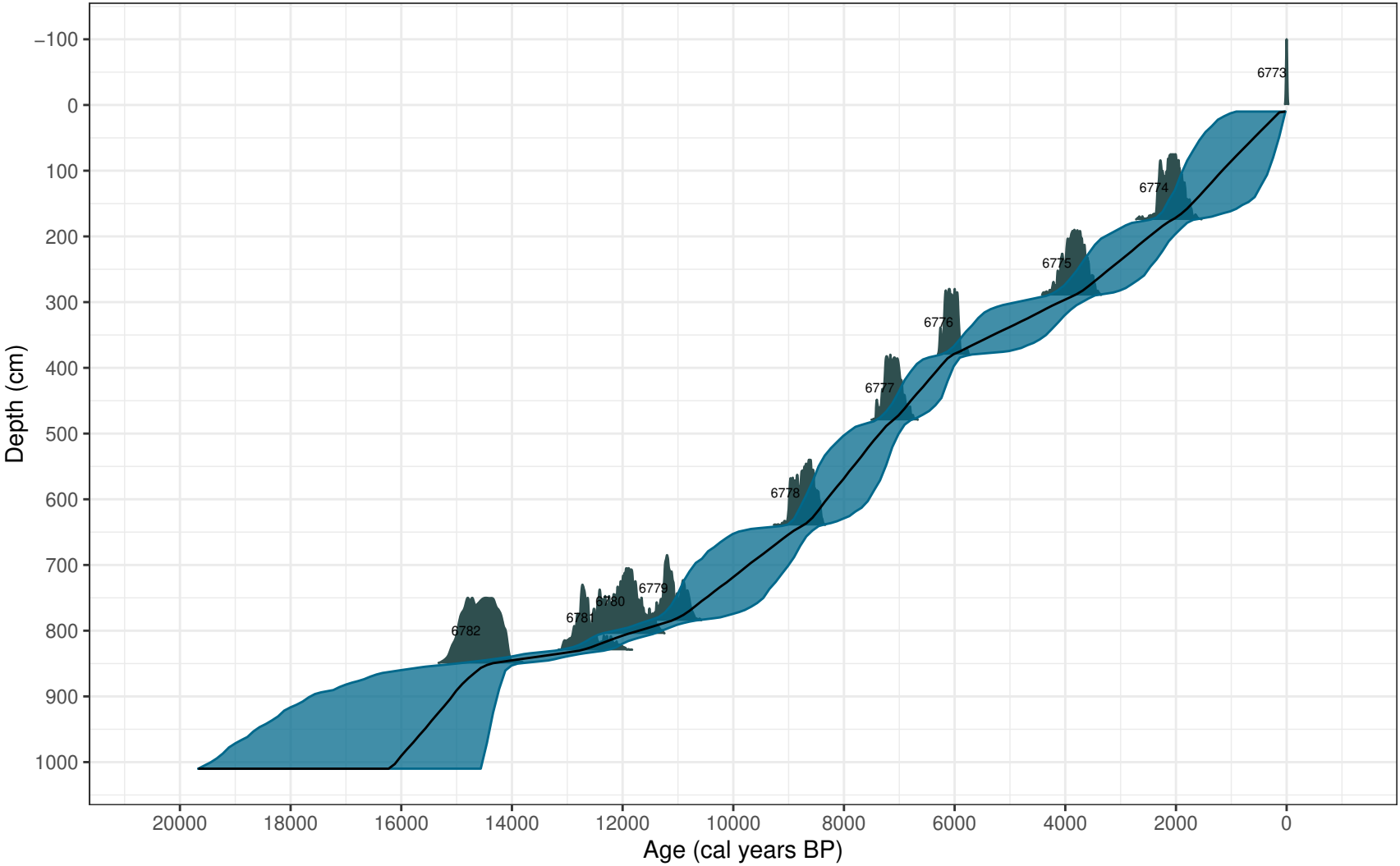

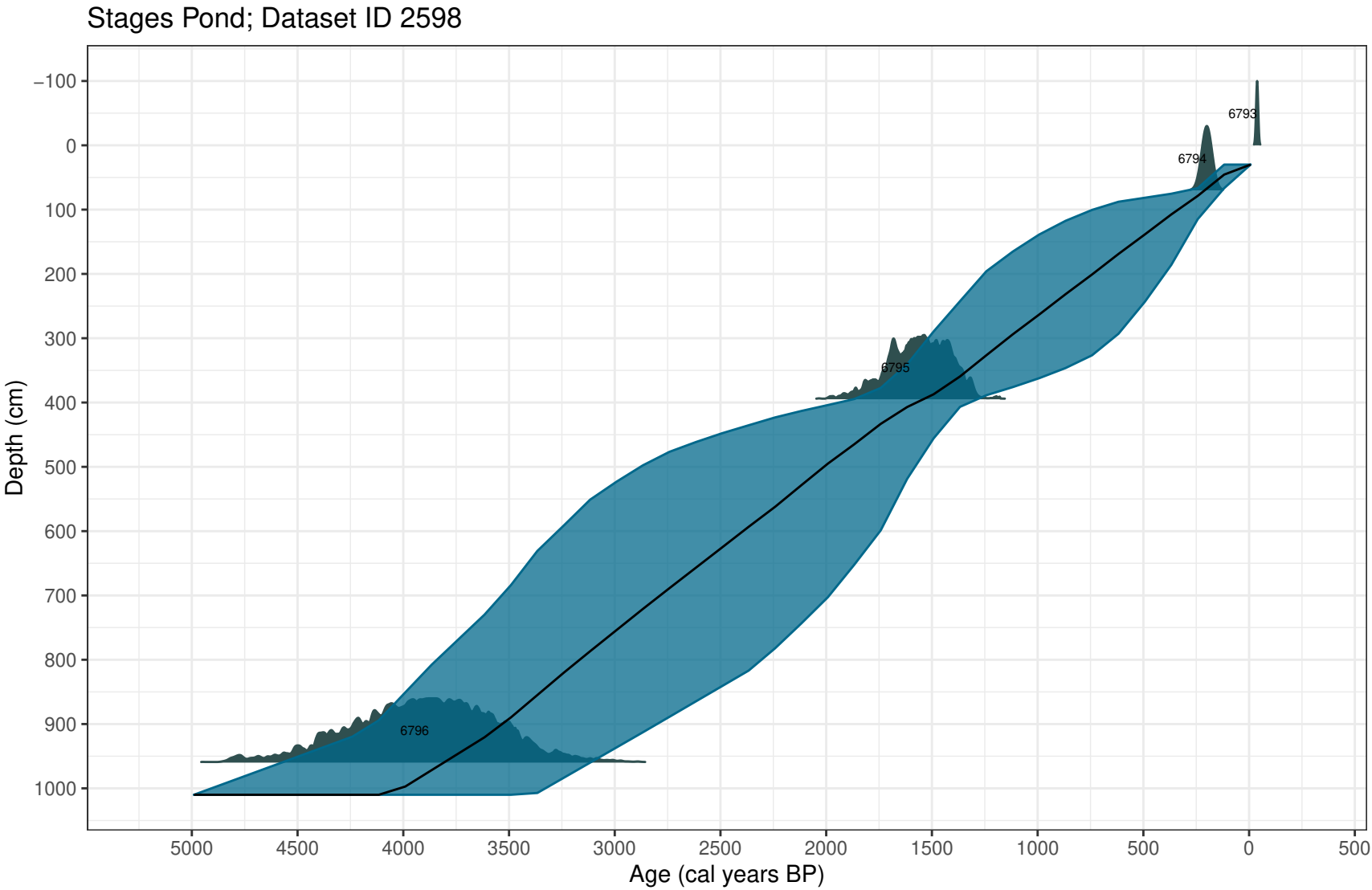
Stages Pond; Dataset ID 2598
Depth (cm)
−100
0
100
200
300
400
500
600
700
800
900
1000
6793
6794
6795
6796
5000
4500
4000
3500
3000
2500
2000
1500
1000
500
0
500
Age (cal years BP)

Starkweather Pond; Dataset ID 2599

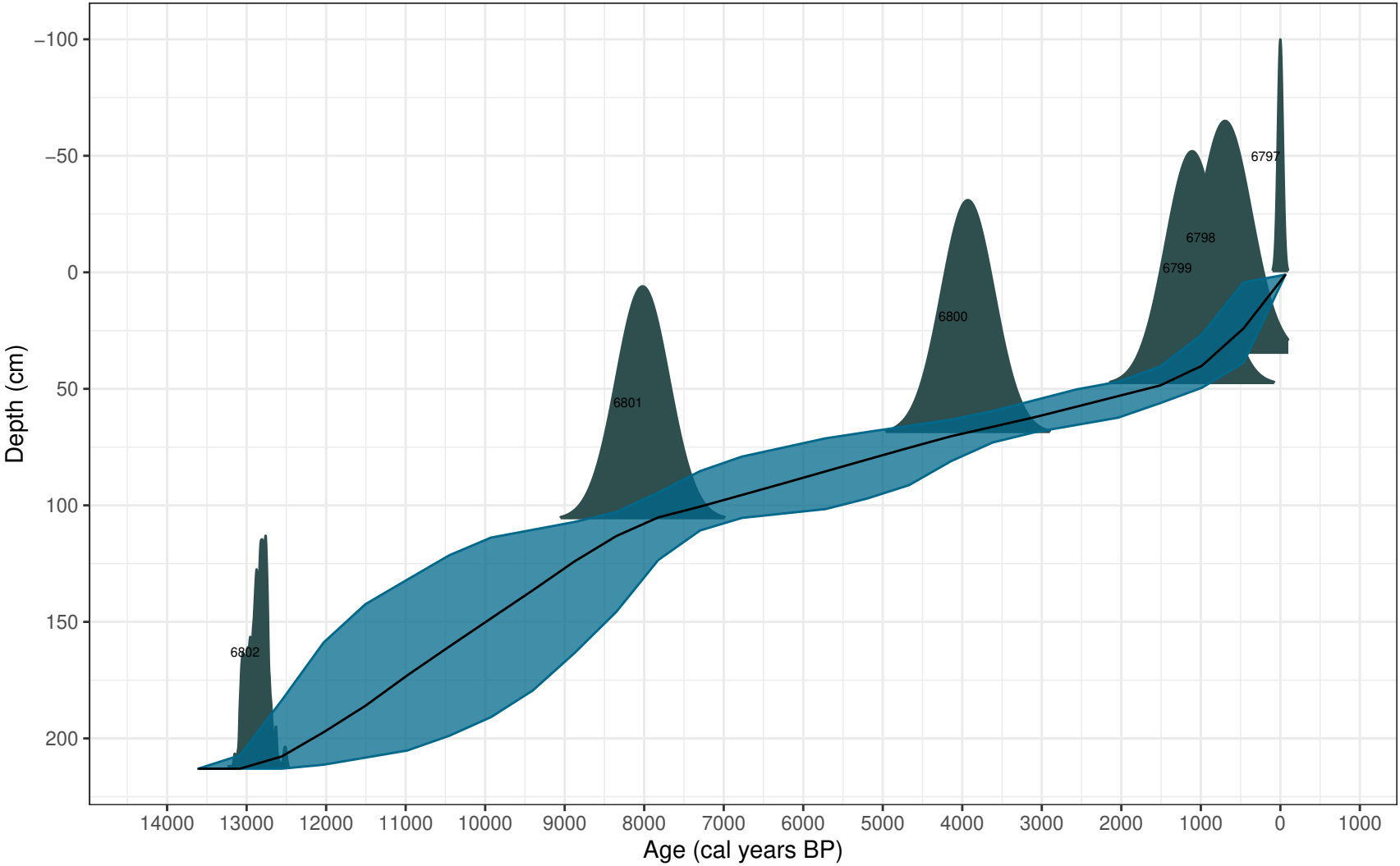

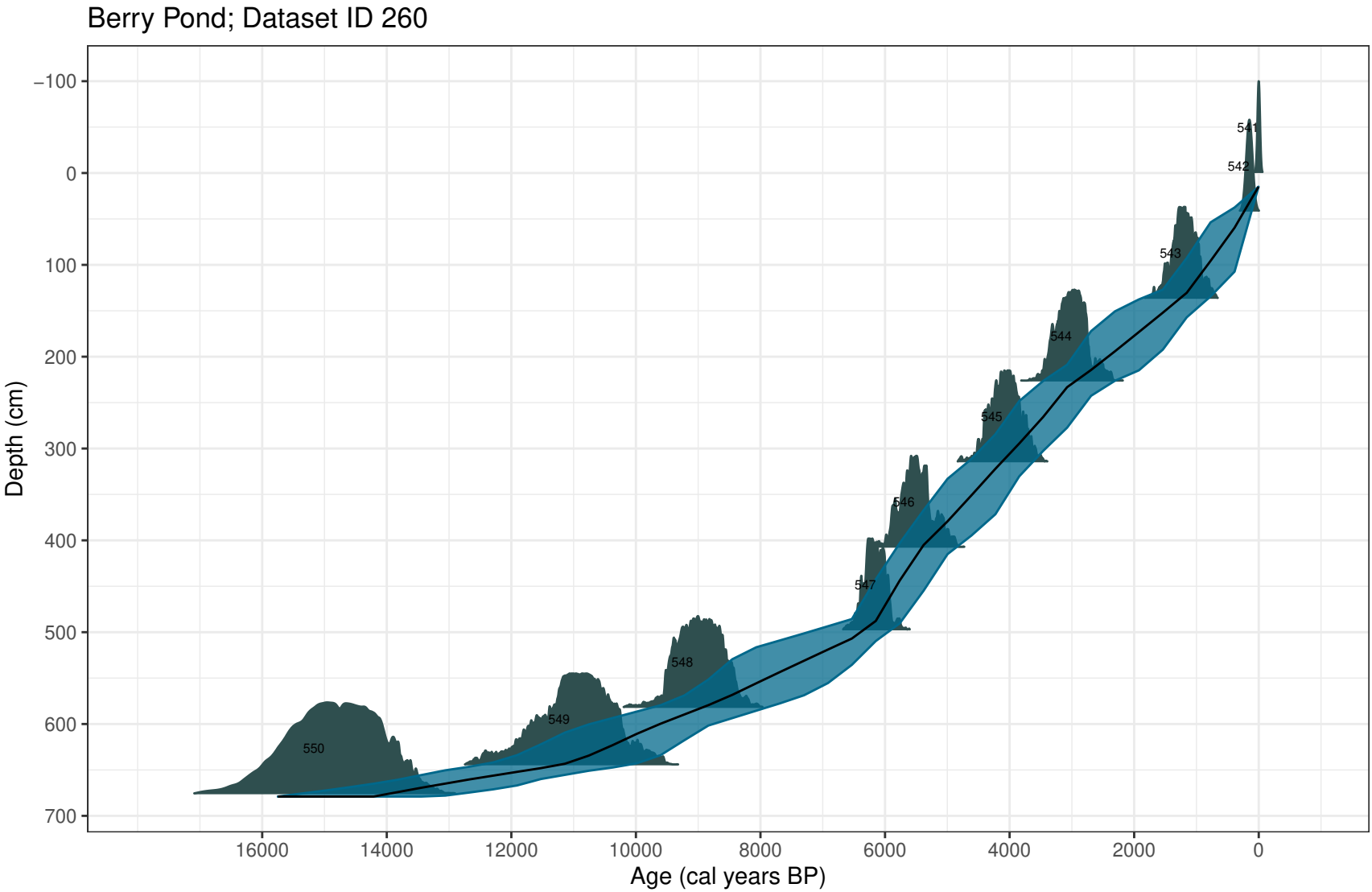
Berry Pond; Dataset ID 260
Depth (cm)
−100
0
100
200
300
400
500
600
700
Age (cal years BP)
16000
14000
12000
10000
8000
6000
4000
2000
0
541
542
543
544
545
546
547
548
549
550

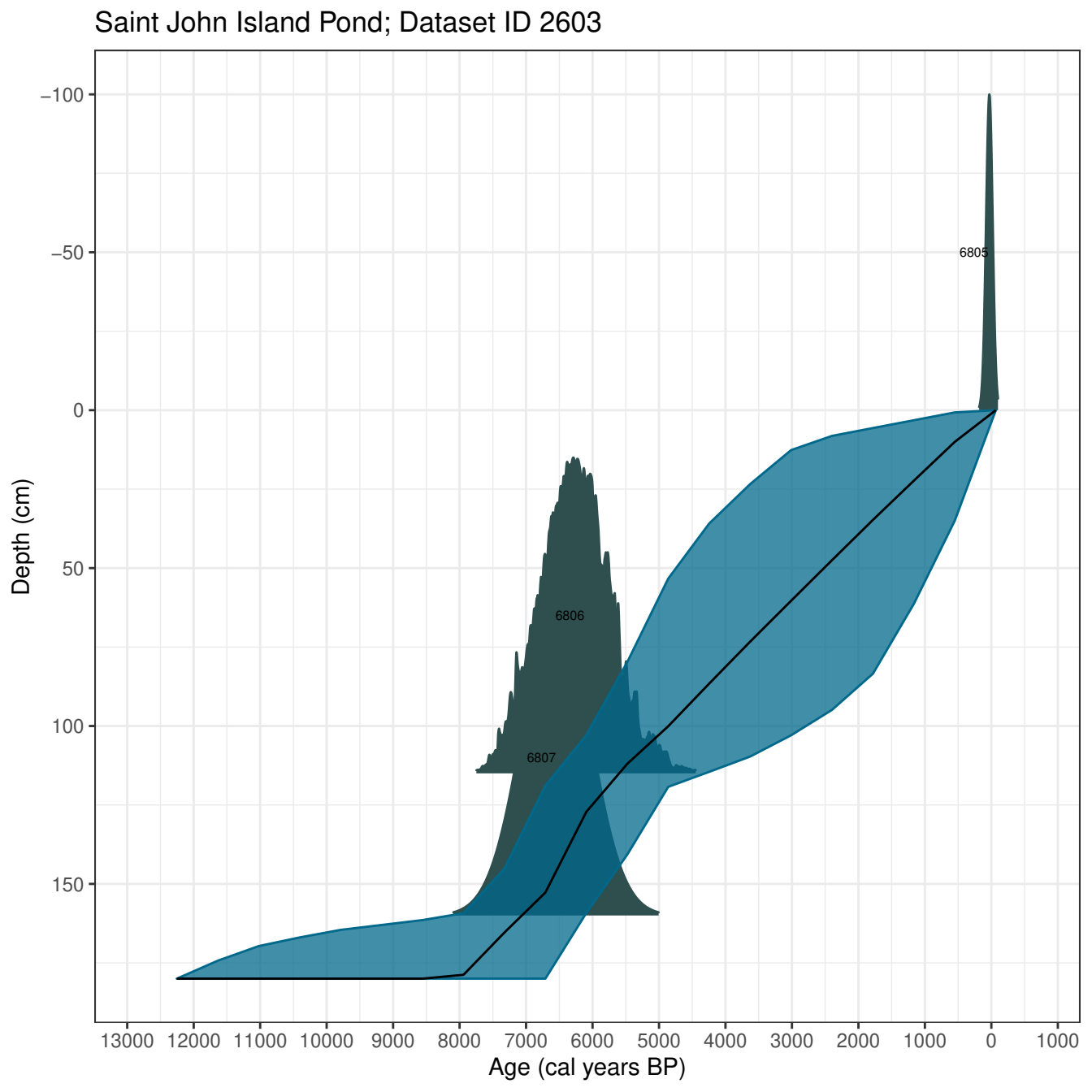
Saint John Island Pond; Dataset ID 2603
Depth (cm)
−100
−50
0
50
100
150
6805
6806
6807
13000
12000
11000
10000
9000
8000
7000
6000
5000
4000
3000
2000
1000
0
1000
Age (cal years BP)

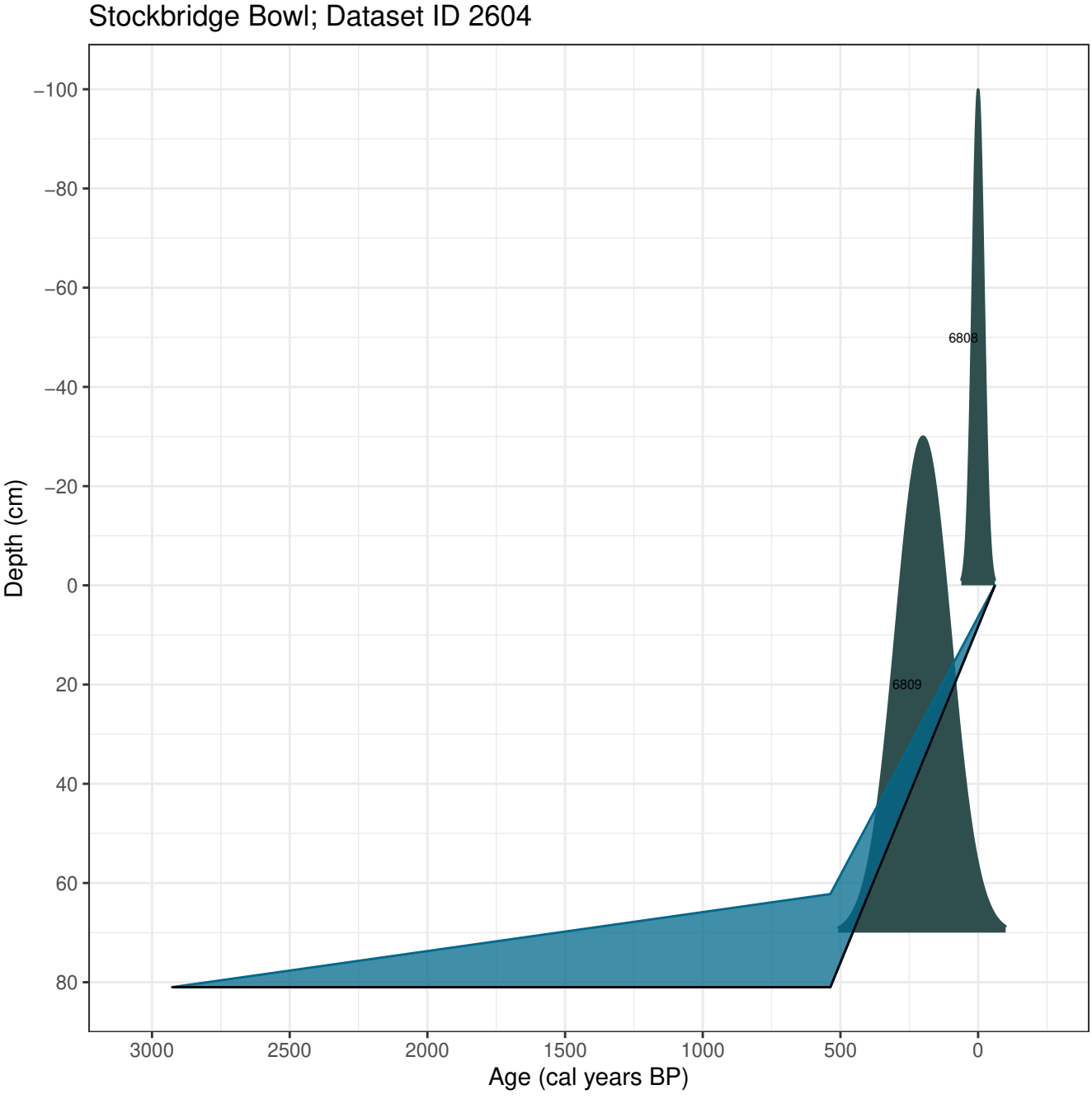
Stockbridge Bowl; Dataset ID 2604
Depth (cm)
−100
−80
−60
−40
−20
0
20
40
60
80
6808
6809
3000
2500
2000
1500
1000
500
0
Age (cal years BP)

Stone Lake Tamarack Swamp; Dataset ID 2607

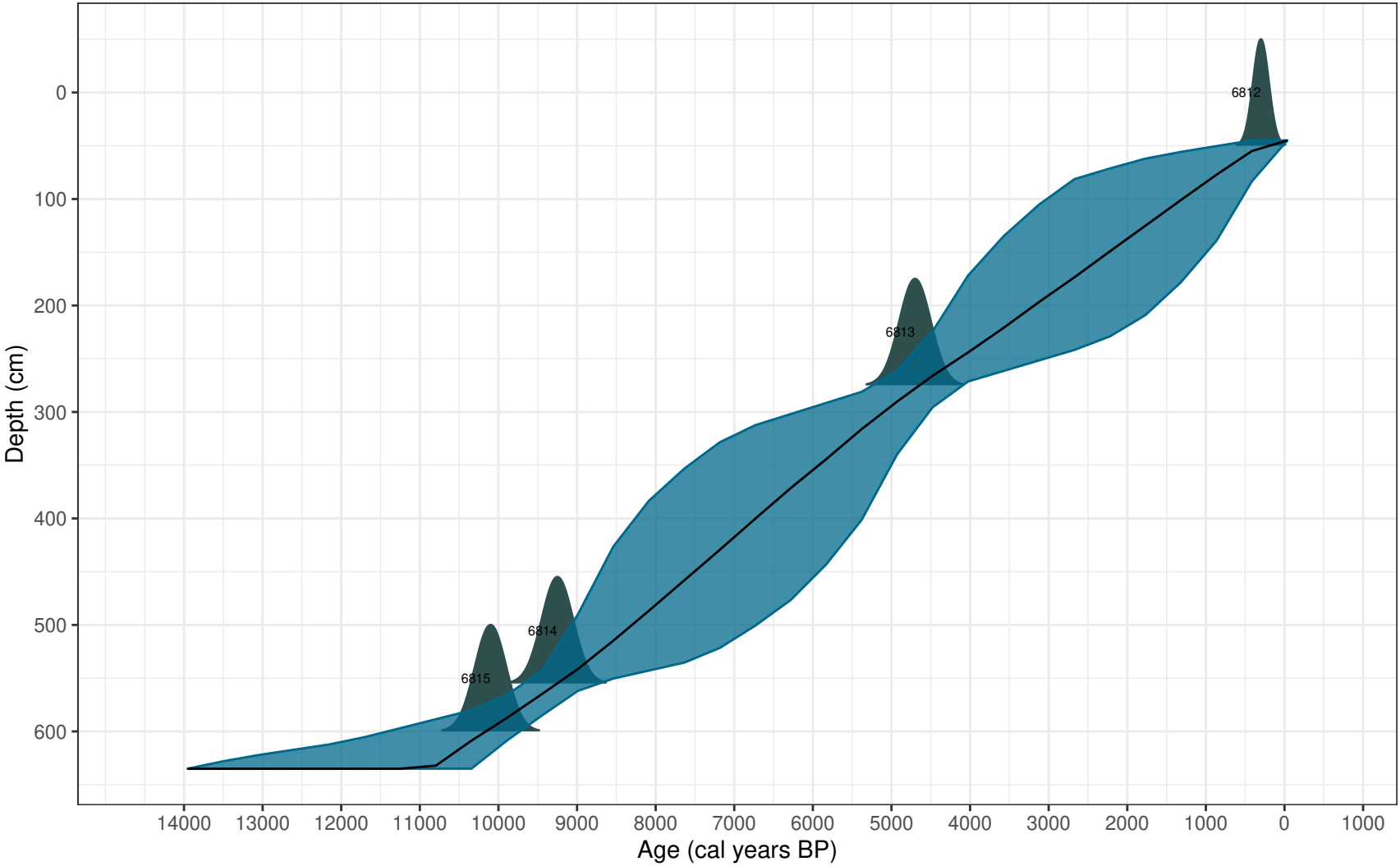

Stotzel−Leis Site; Dataset ID 2609

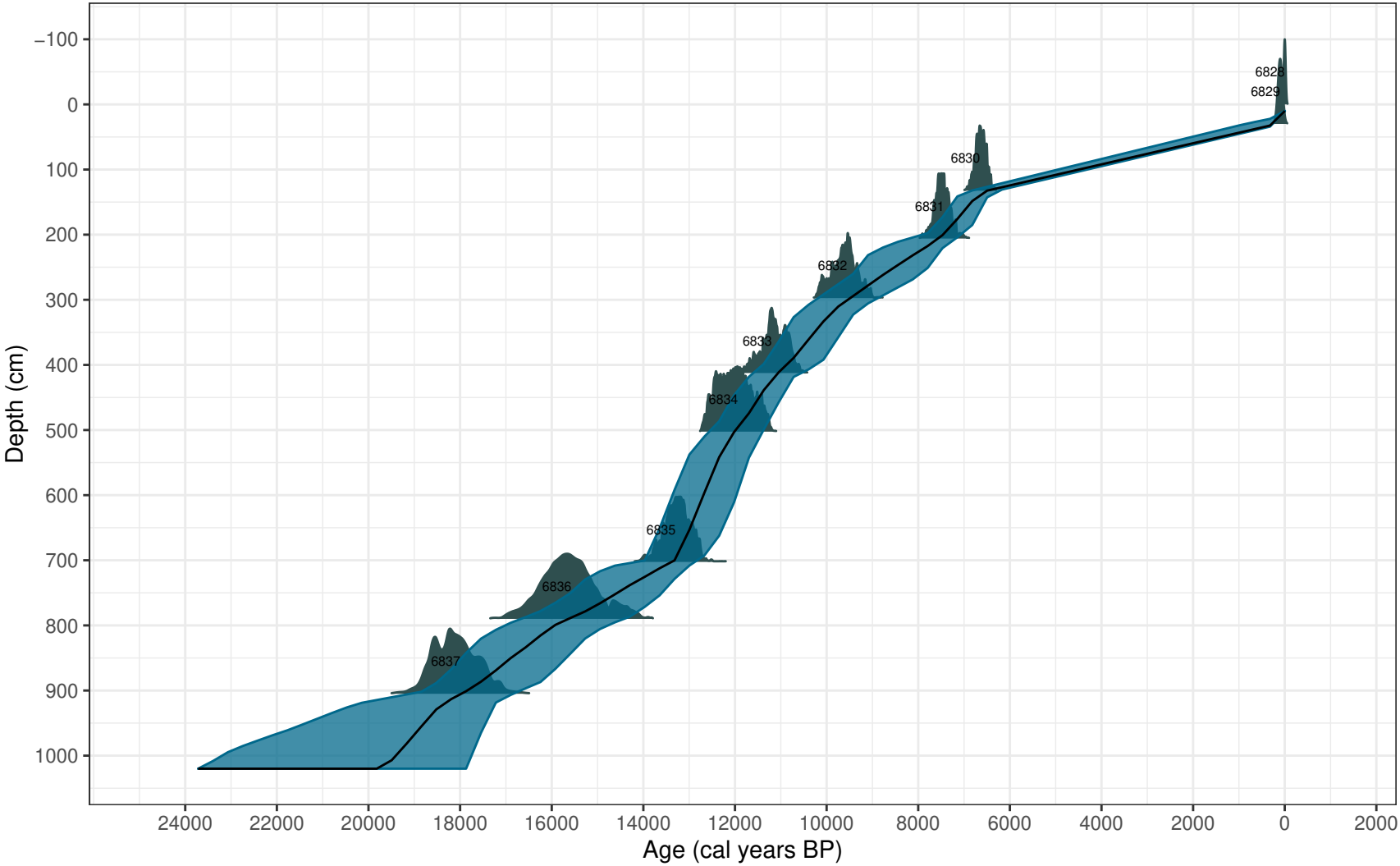

Sugarloaf Pond; Dataset ID 2610

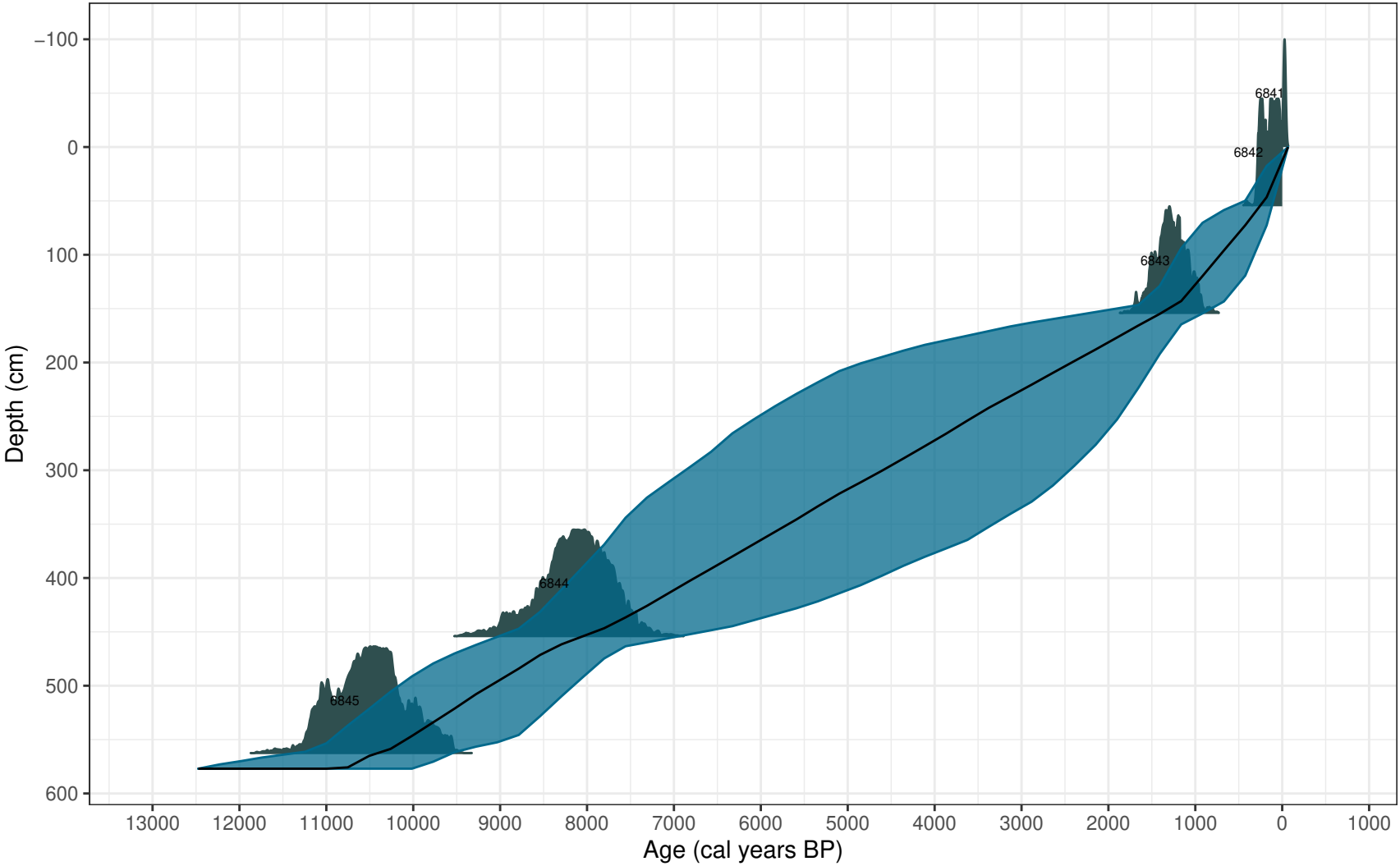

Sulphur Lake; Dataset ID 2611

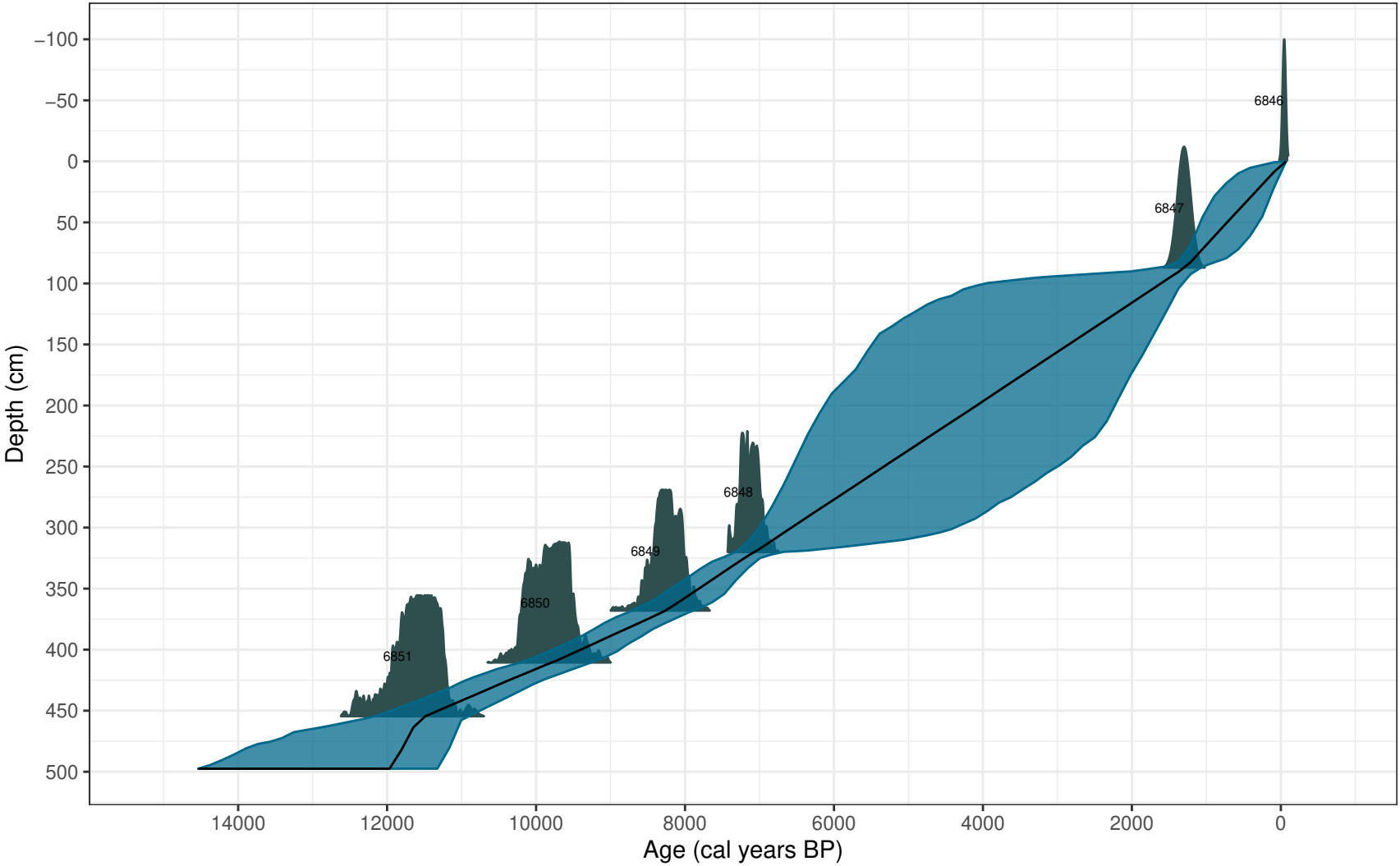

Surprise Lake; Dataset ID 2615

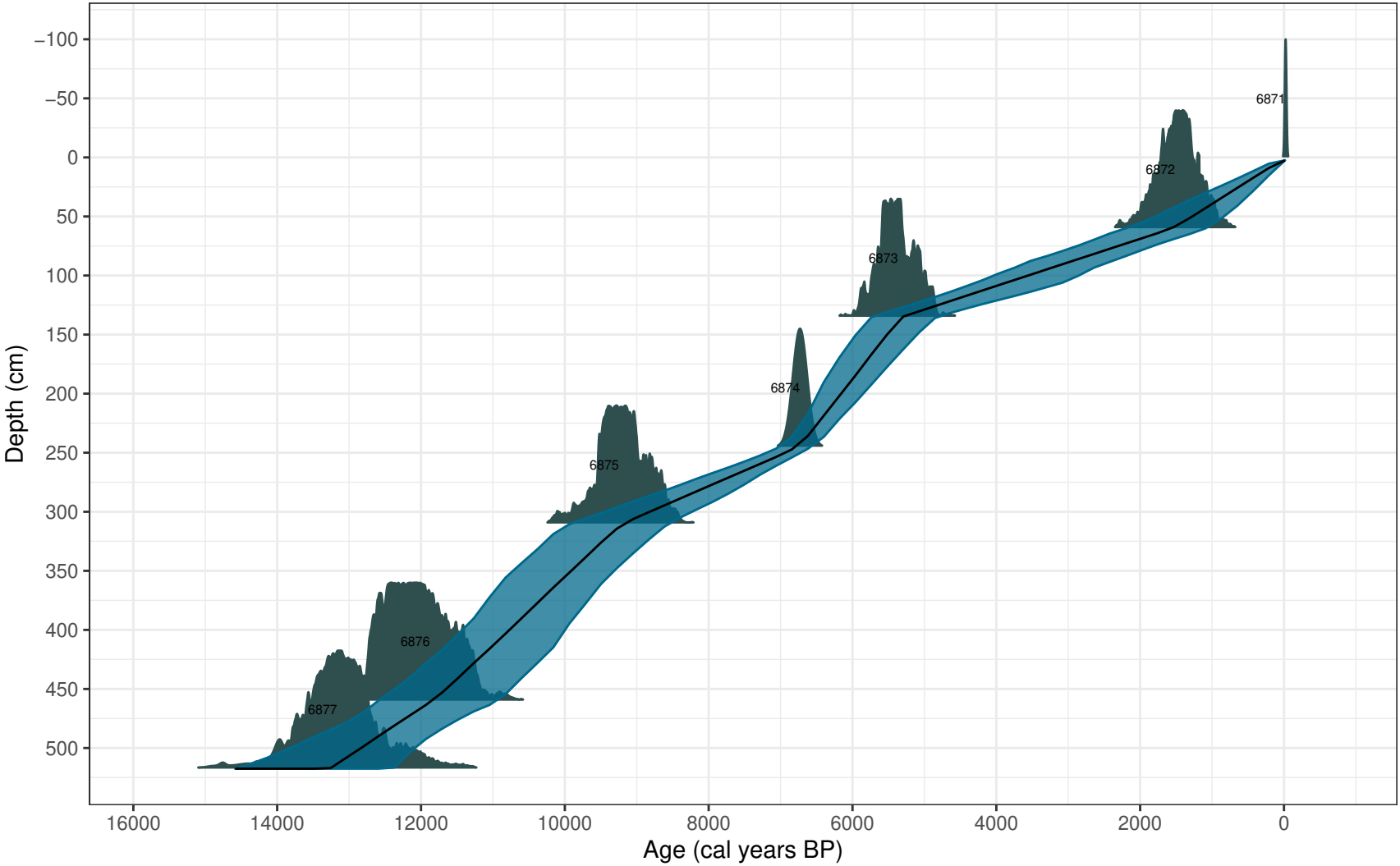

Sutherland Pond; Dataset ID 2617

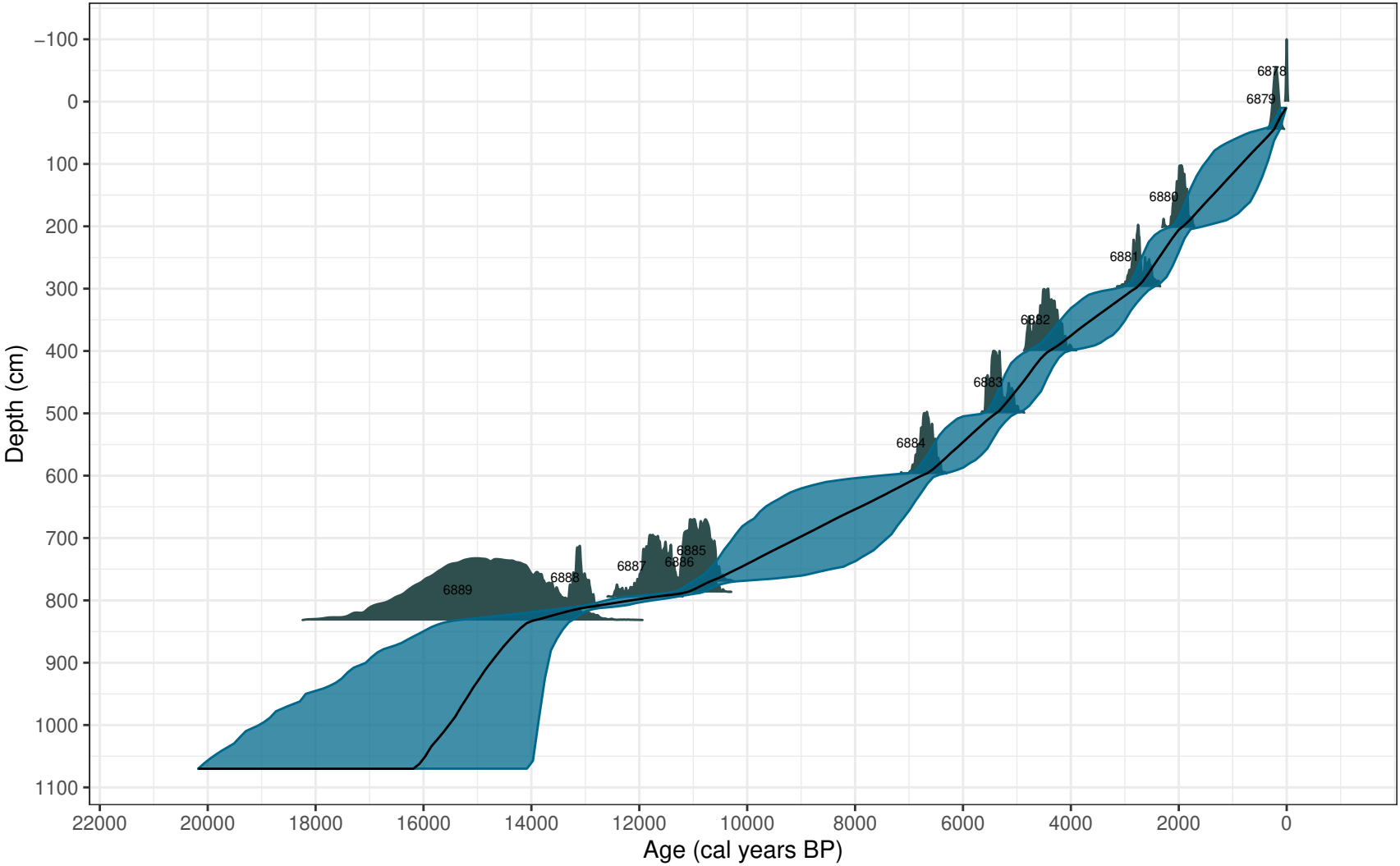

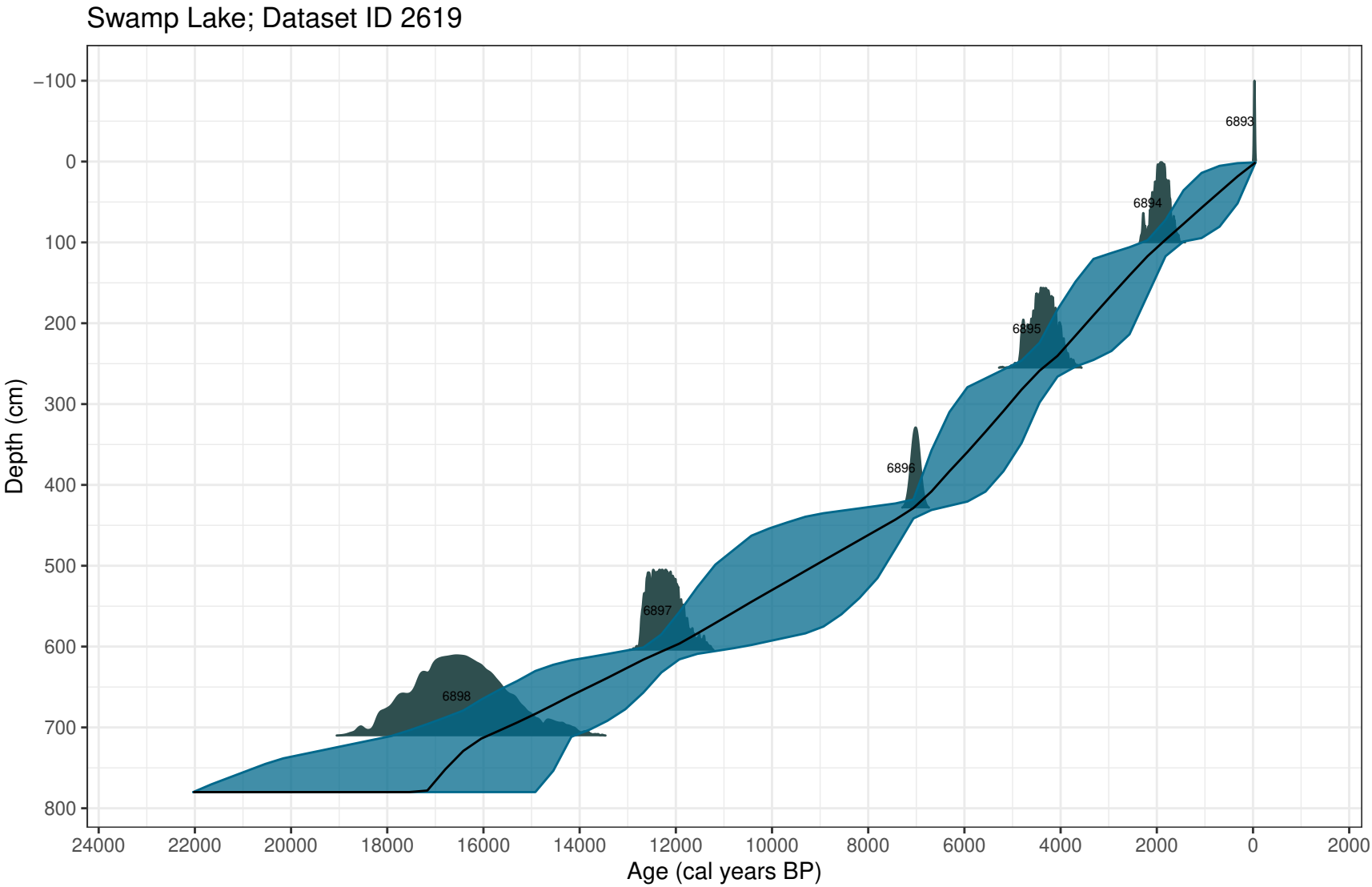
Swamp Lake; Dataset ID 2619
Depth (cm)
Age (cal years BP)
6893
6894
6895
6896
6897
6898
−100
0
100
200
300
400
500
600
700
800
24000
22000
20000
18000
16000
14000
12000
10000
8000
6000
4000
2000
0
2000

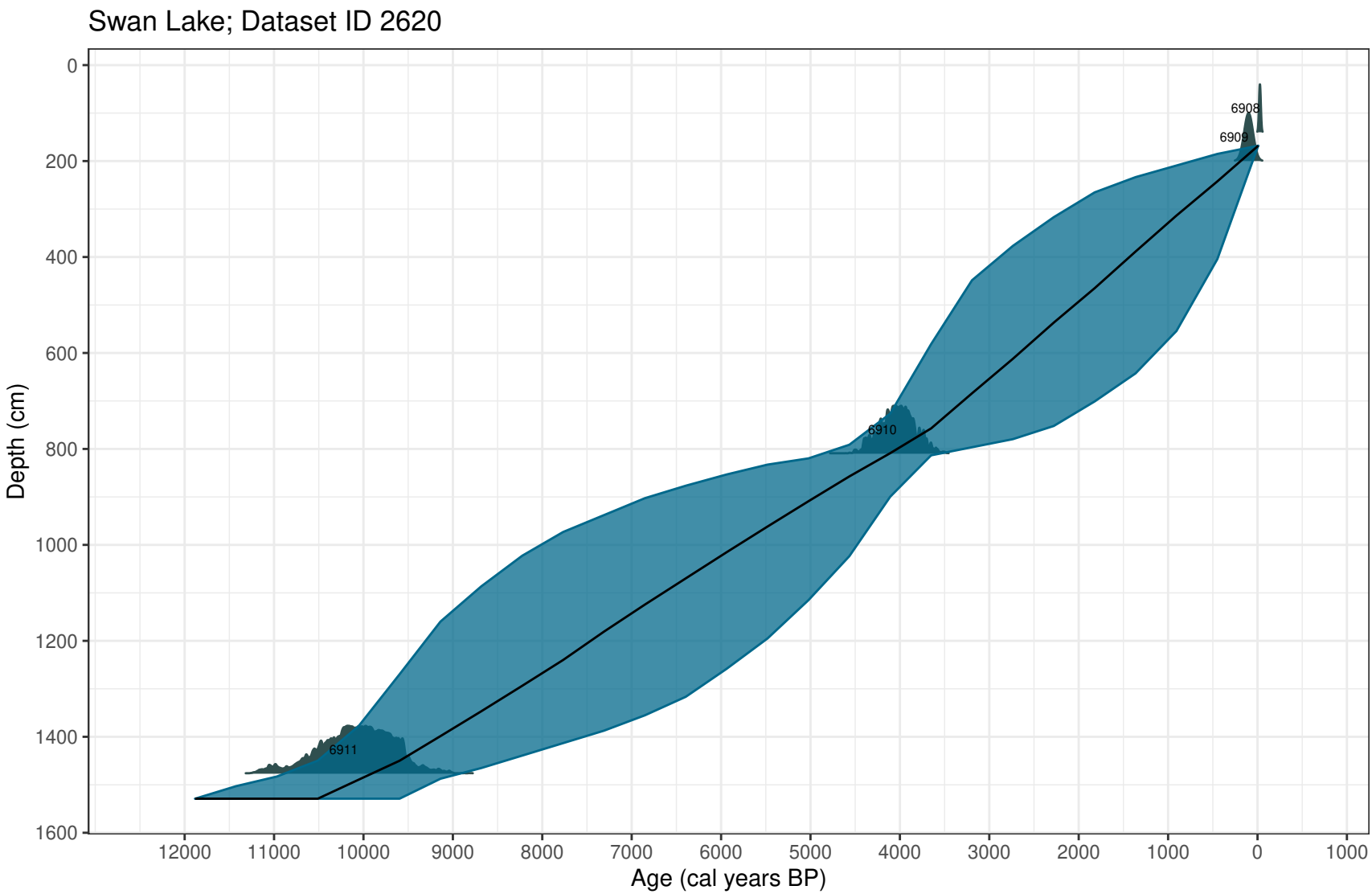
Swan Lake; Dataset ID 2620
Depth (cm)
0
200
400
600
800
1000
1200
1400
1600
Age (cal years BP)
12000
11000
10000
9000
8000
7000
6000
5000
4000
3000
2000
1000
0
1000
6908
6909
6910
6911

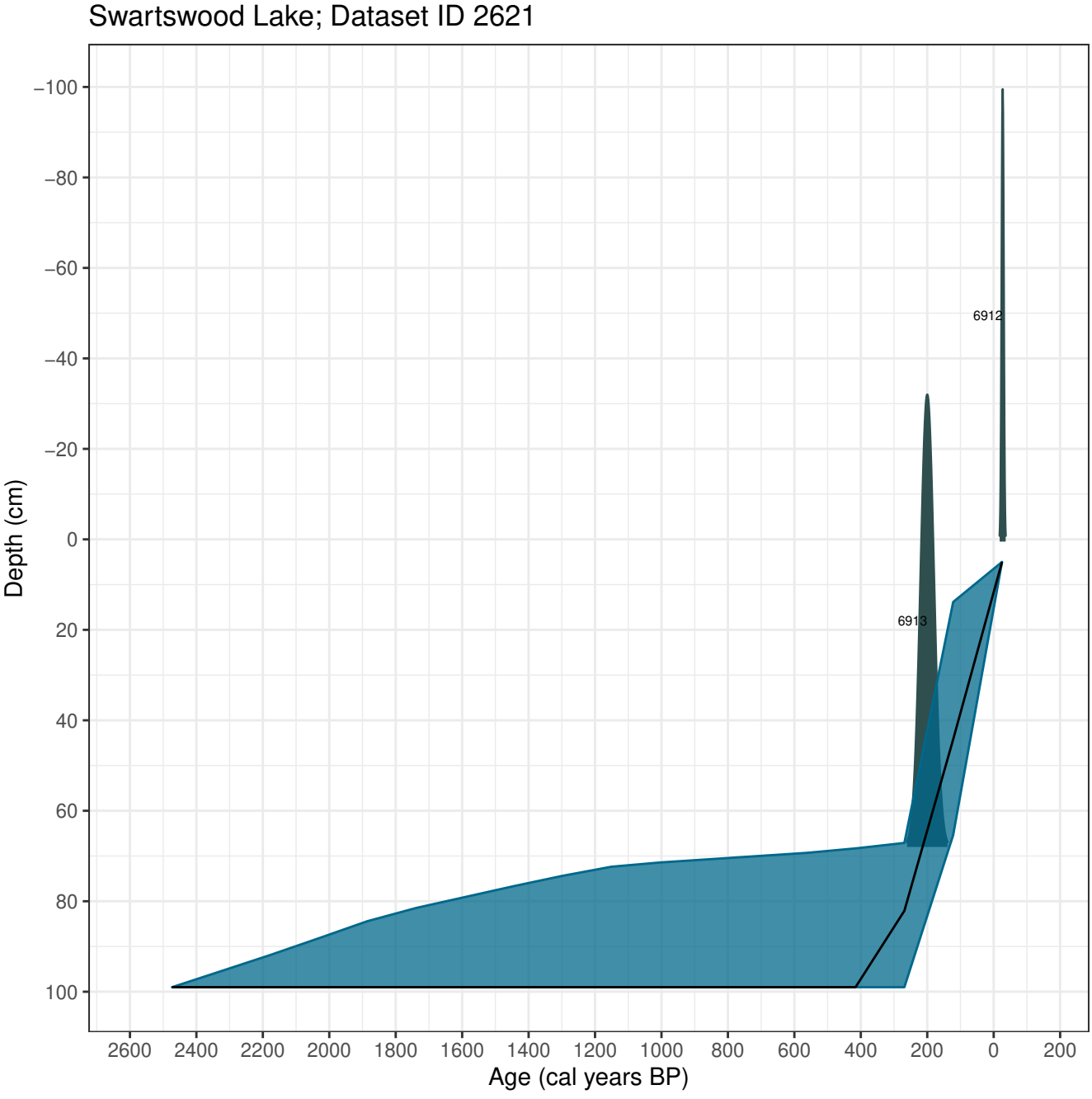
Swartswood Lake; Dataset ID 2621
Depth (cm)
−100
−80
−60
−40
−20
0
20
40
60
80
100
6912
6913
2600
2400
2200
2000
1800
1600
1400
1200
1000
800
600
400
200
0
200
Age (cal years BP)

Sweet Little Lake; Dataset ID 2622

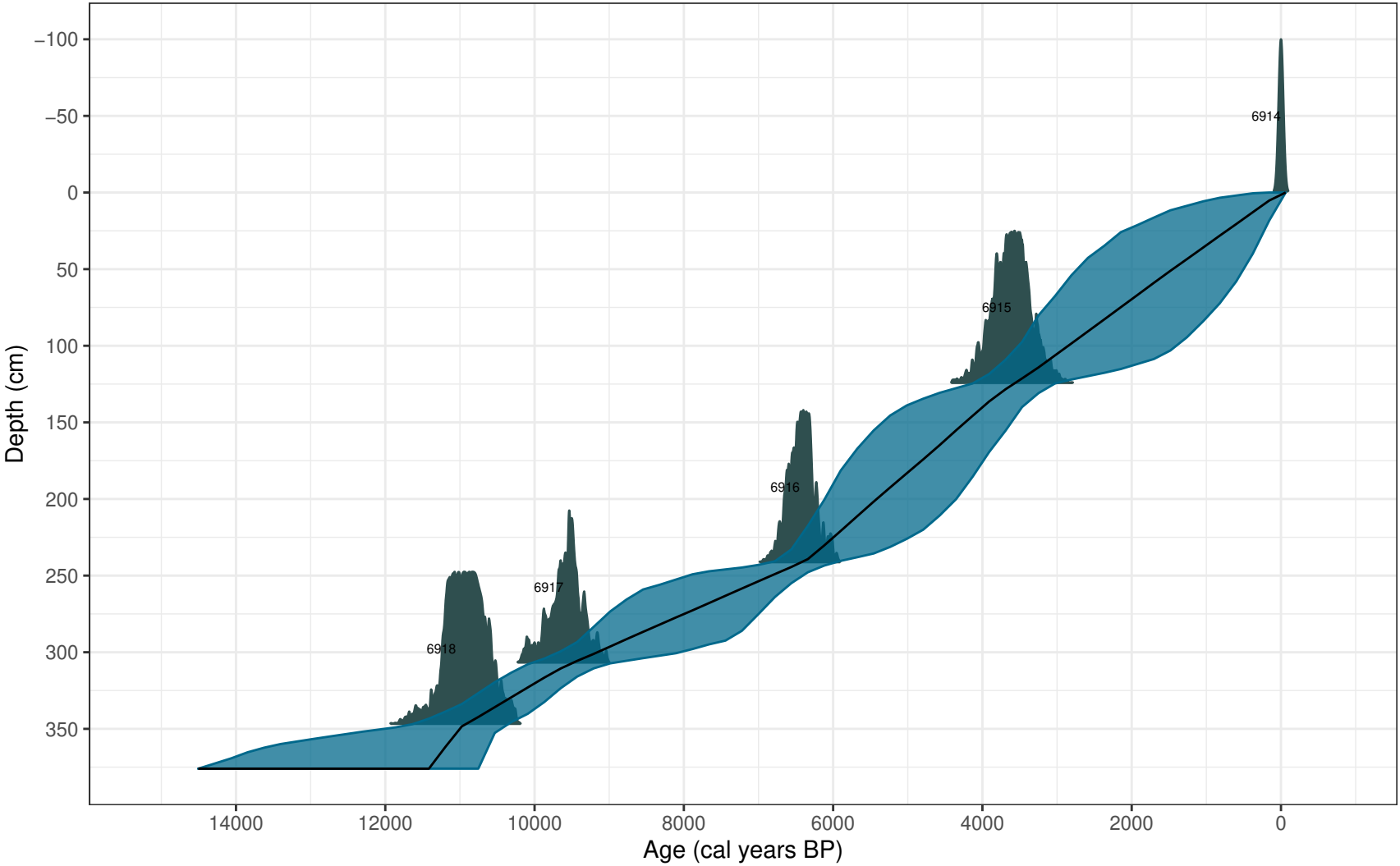

Szabo Pond; Dataset ID 2623

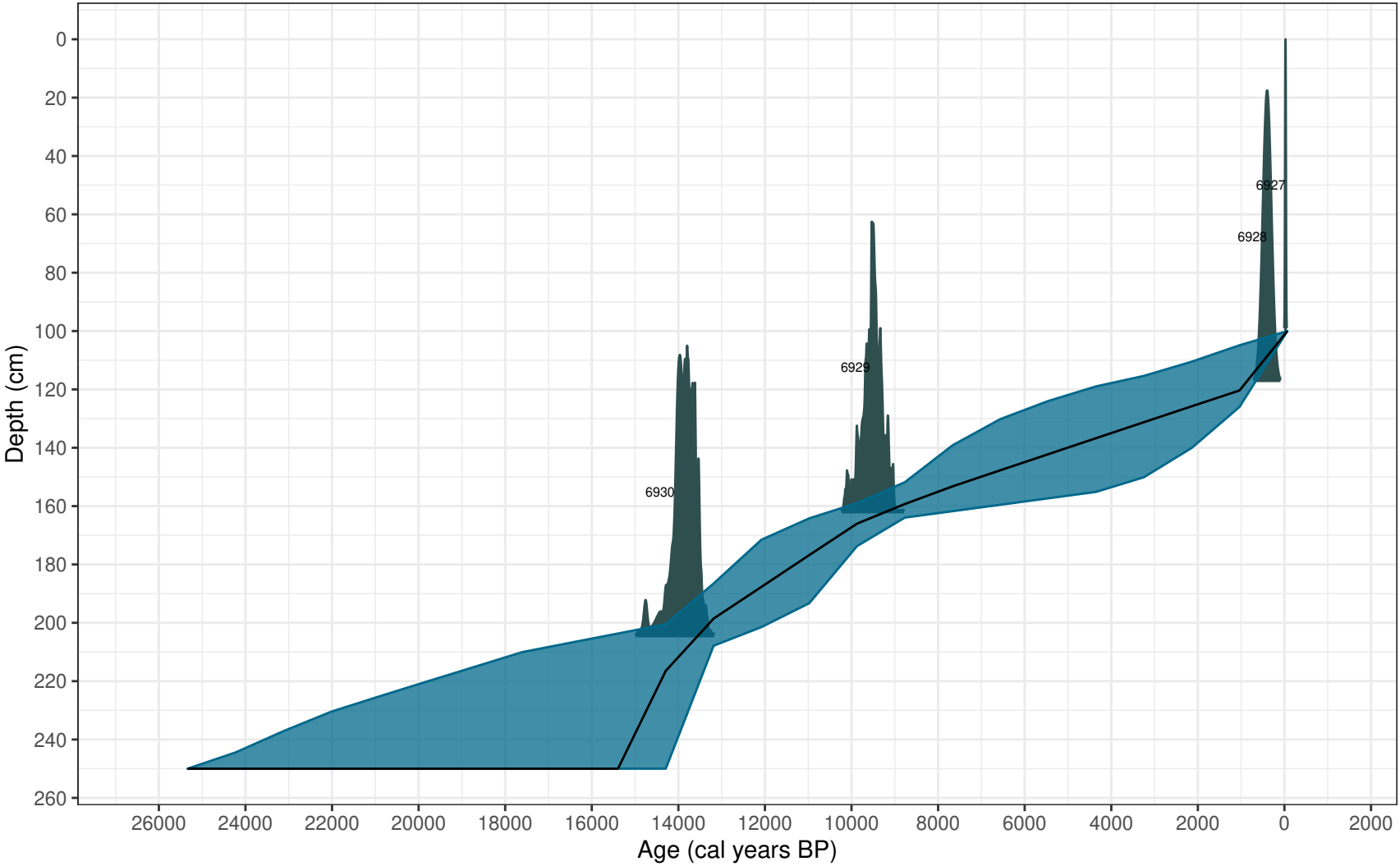

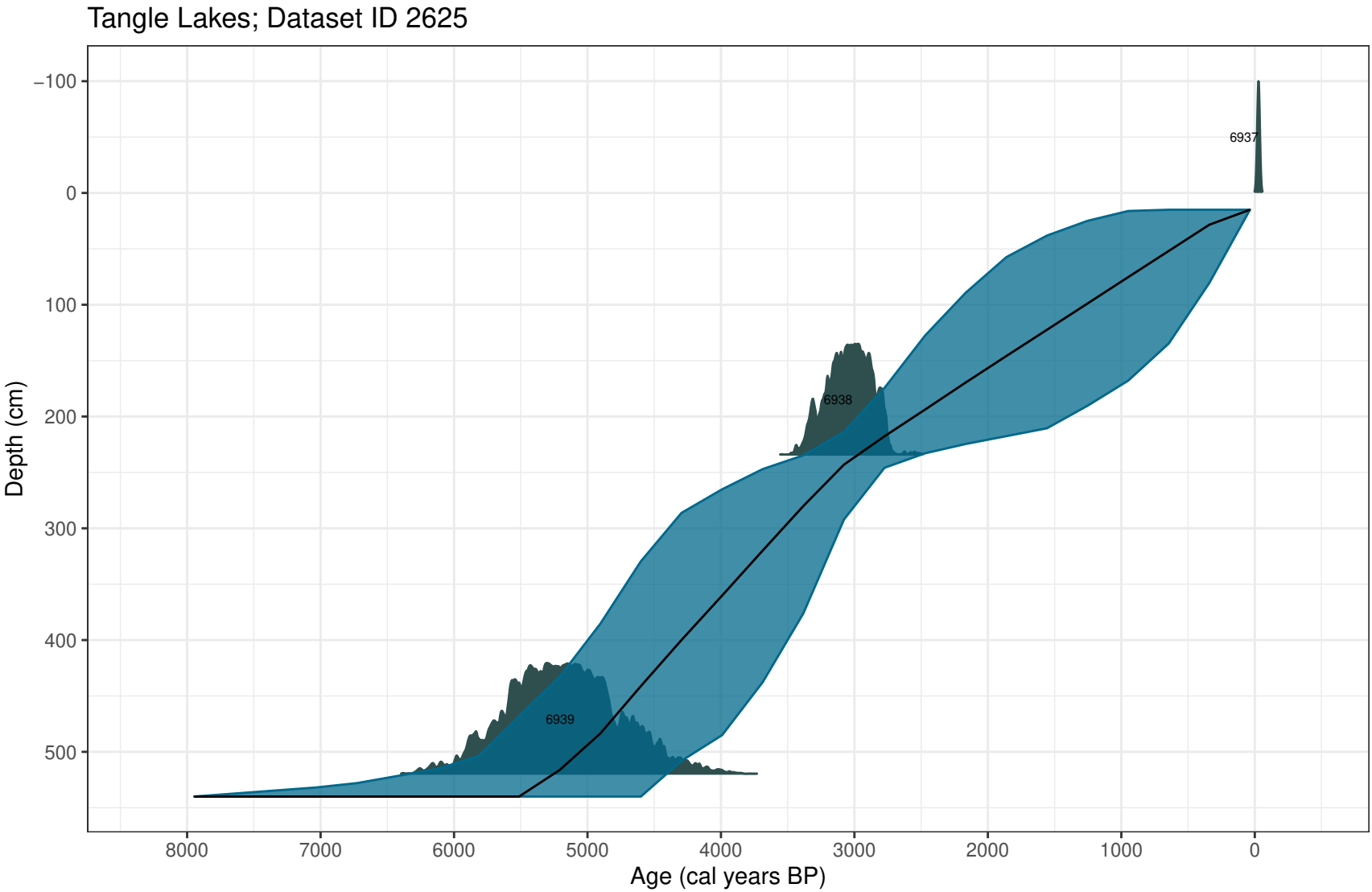
Tangle Lakes; Dataset ID 2625
Depth (cm)
−100
0
100
200
300
400
500
6937
6938
6939
8000
7000
6000
5000
4000
3000
2000
1000
0
Age (cal years BP)

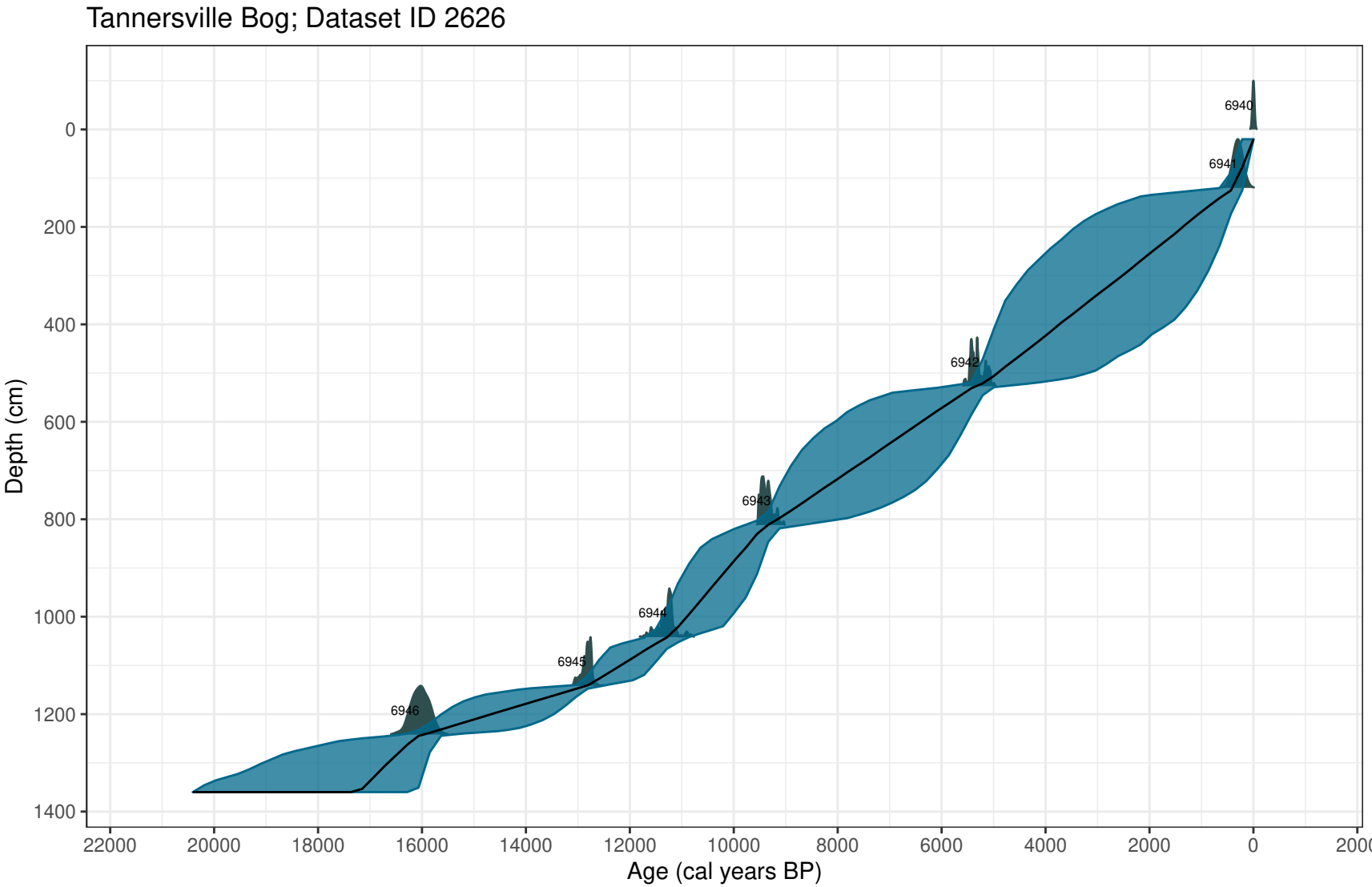
Tannersville Bog; Dataset ID 2626
Depth (cm)
Age (cal years BP)
0
200
400
600
800
1000
1200
1400
22000
20000
18000
16000
14000
12000
10000
8000
6000
4000
2000
0
2000
6940
6941
6942
6943
6944
6945
6946

Taupawshas Bog; Dataset ID 2629

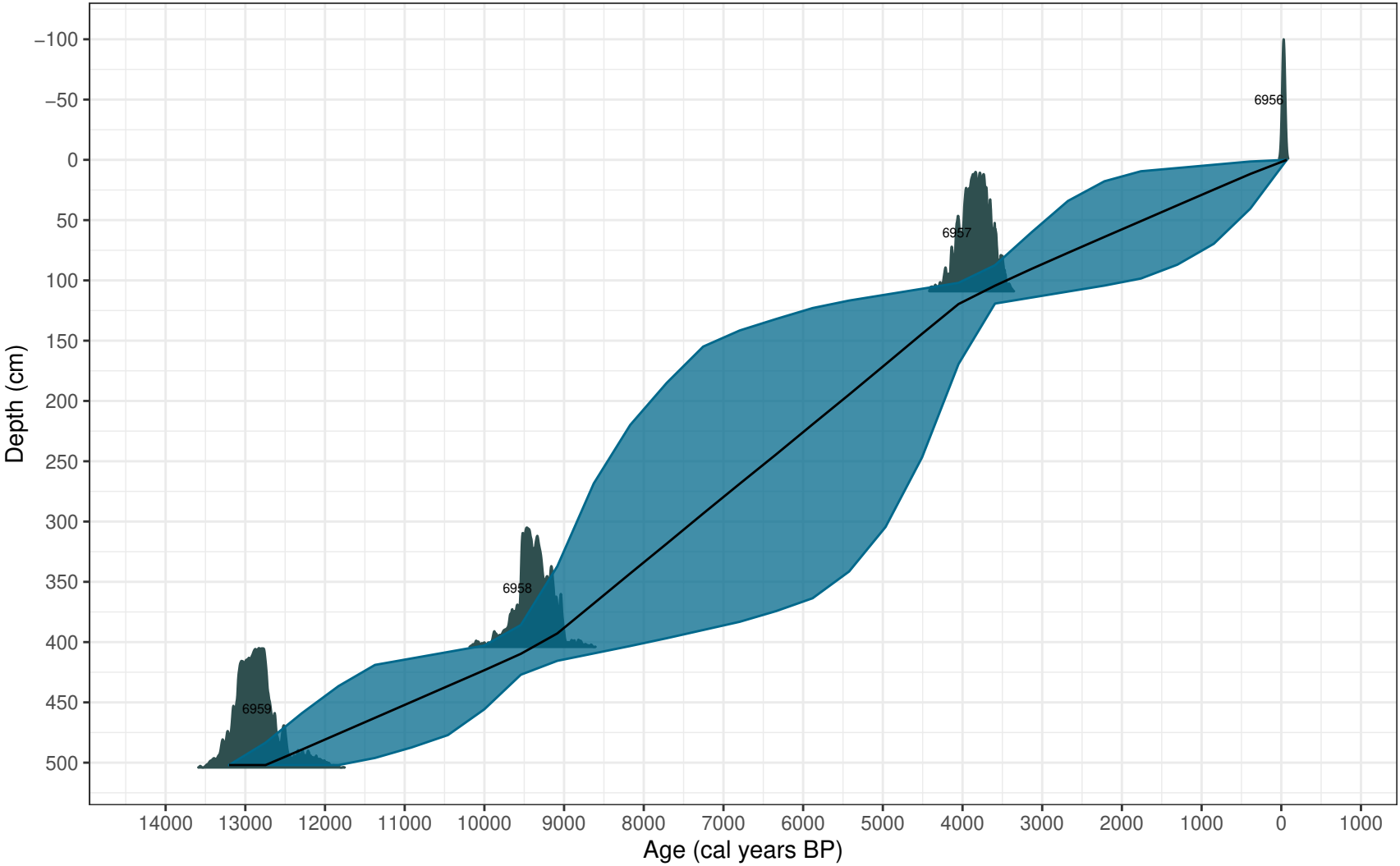

Taylor Creek Site 2; Dataset ID 2630

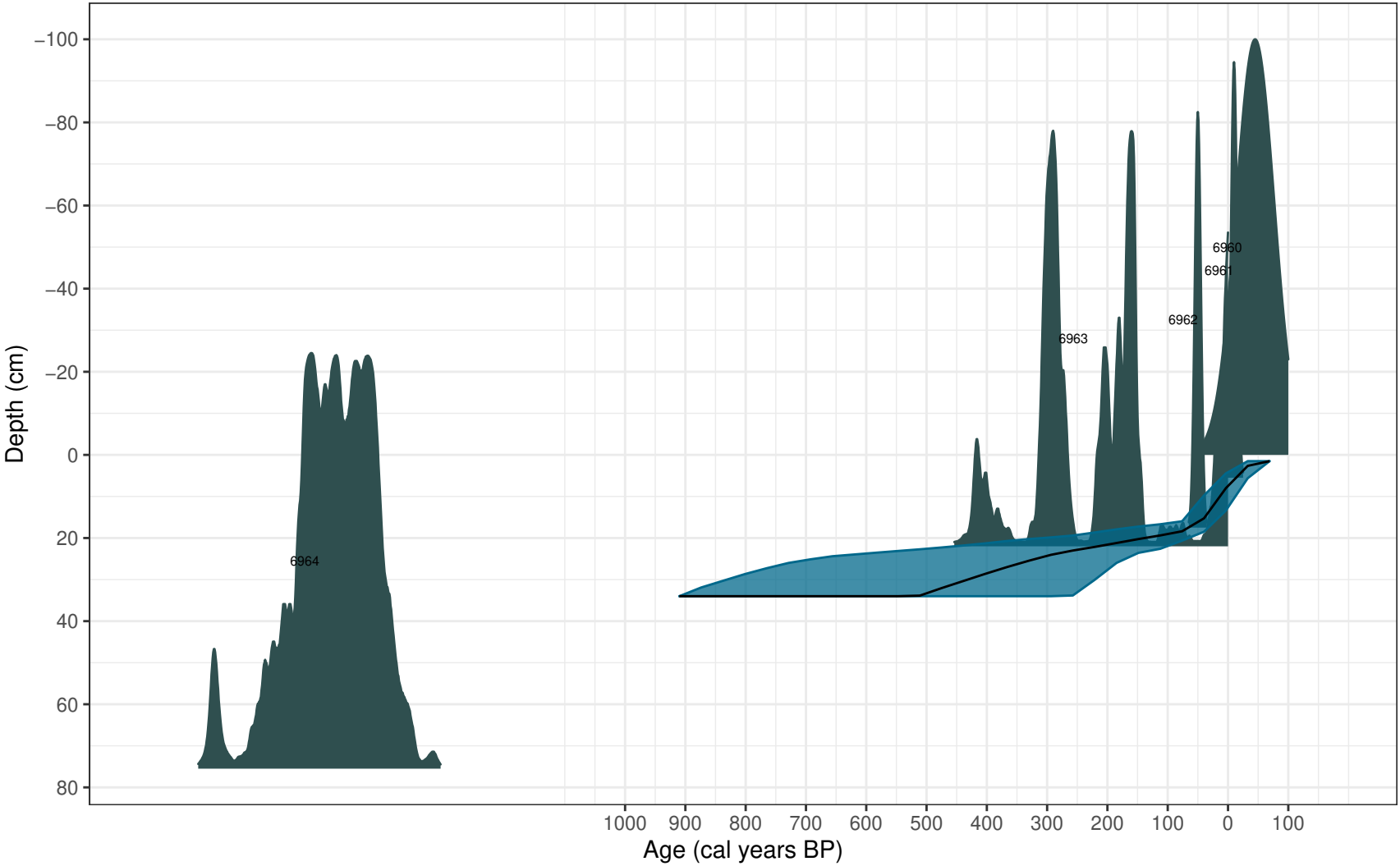

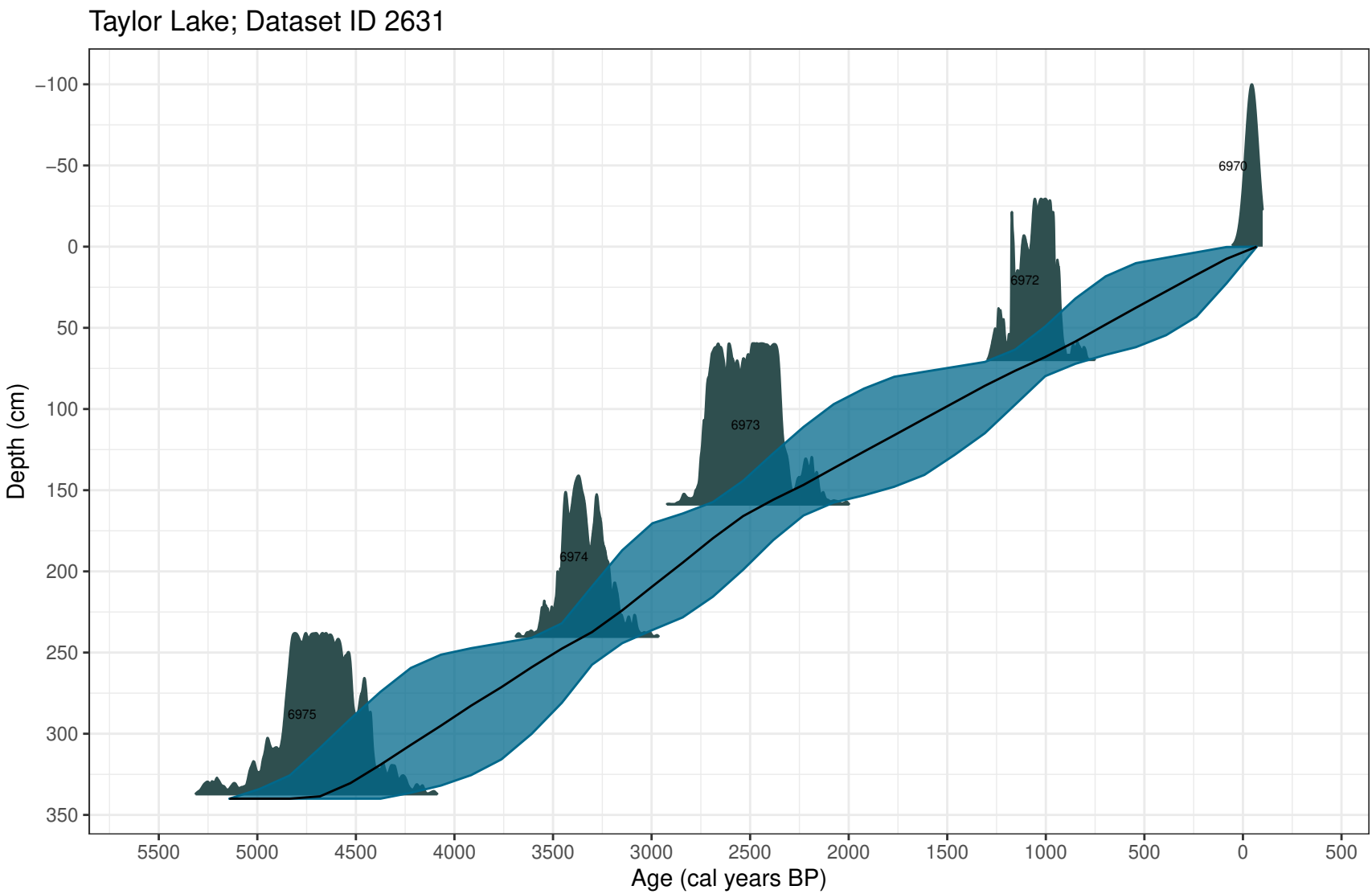
Taylor Lake; Dataset ID 2631
Depth (cm)
−100
−50
0
50
100
150
200
250
300
350
Age (cal years BP)
5500
5000
4500
4000
3500
3000
2500
2000
1500
1000
500
0
500
6970
6972
6973
6974
6975

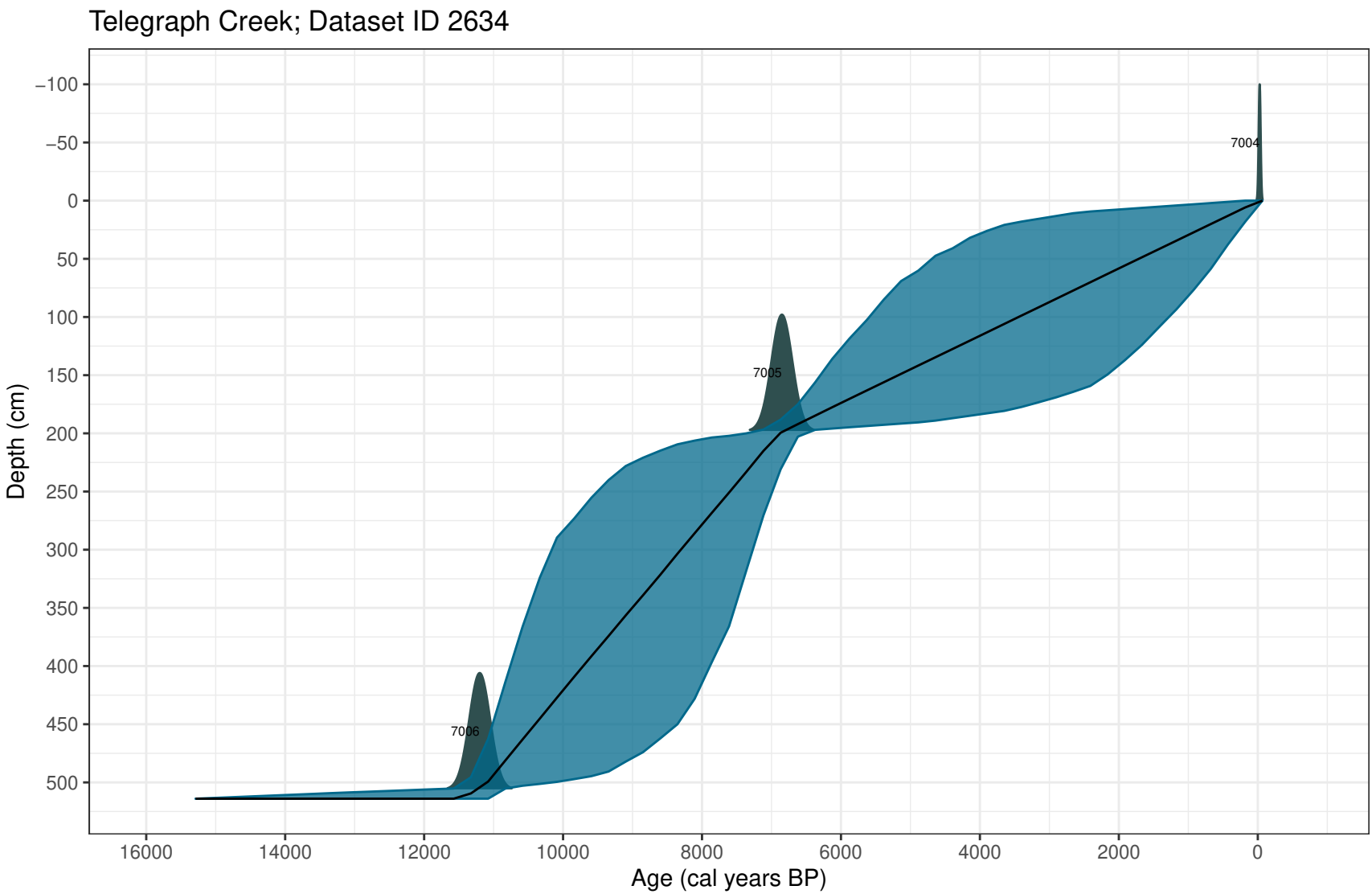
Telegraph Creek; Dataset ID 2634
Depth (cm)
−100
−50
0
50
100
150
200
250
300
350
400
450
500
7004
7005
7006
16000
14000
12000
10000
8000
6000
4000
2000
0
Age (cal years BP)

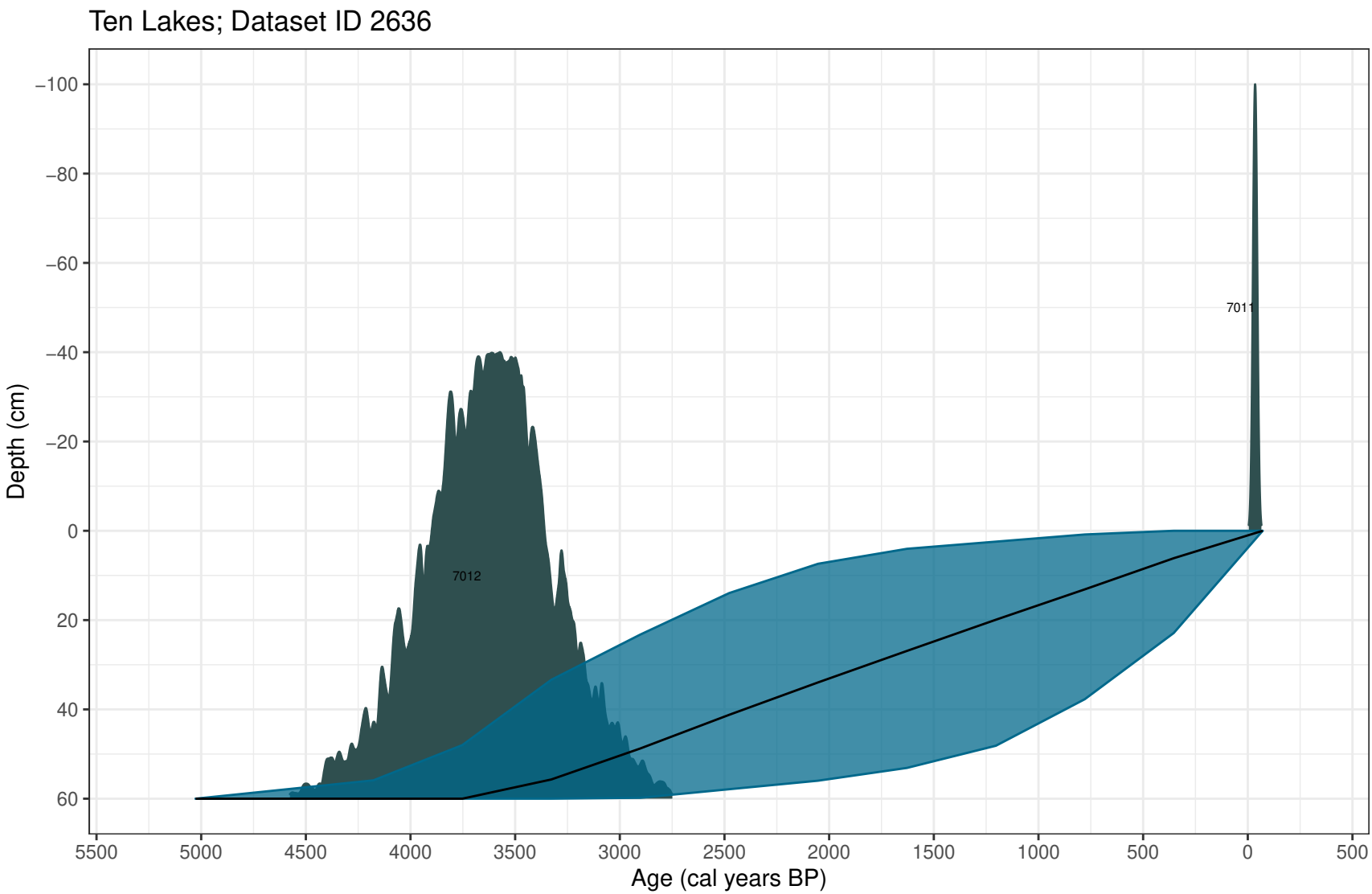
Ten Lakes; Dataset ID 2636
Depth (cm)
−100
−80
−60
−40
−20
0
20
40
60
7011
7012
5500
5000
4500
4000
3500
3000
2500
2000
1500
1000
500
0
500
Age (cal years BP)

Ten Mile Lake; Dataset ID 2637

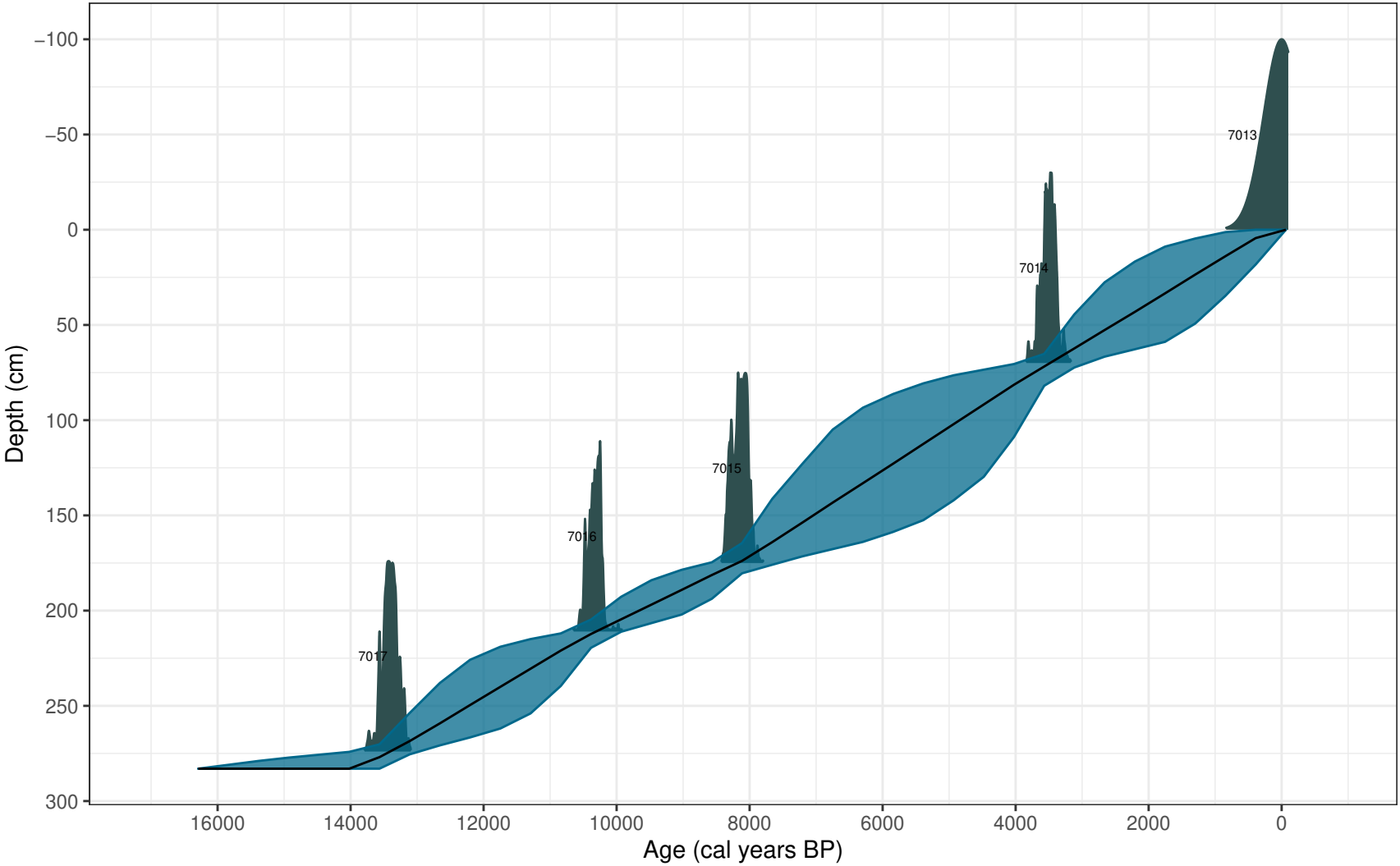

Petit Lac Terrien; Dataset ID 2639

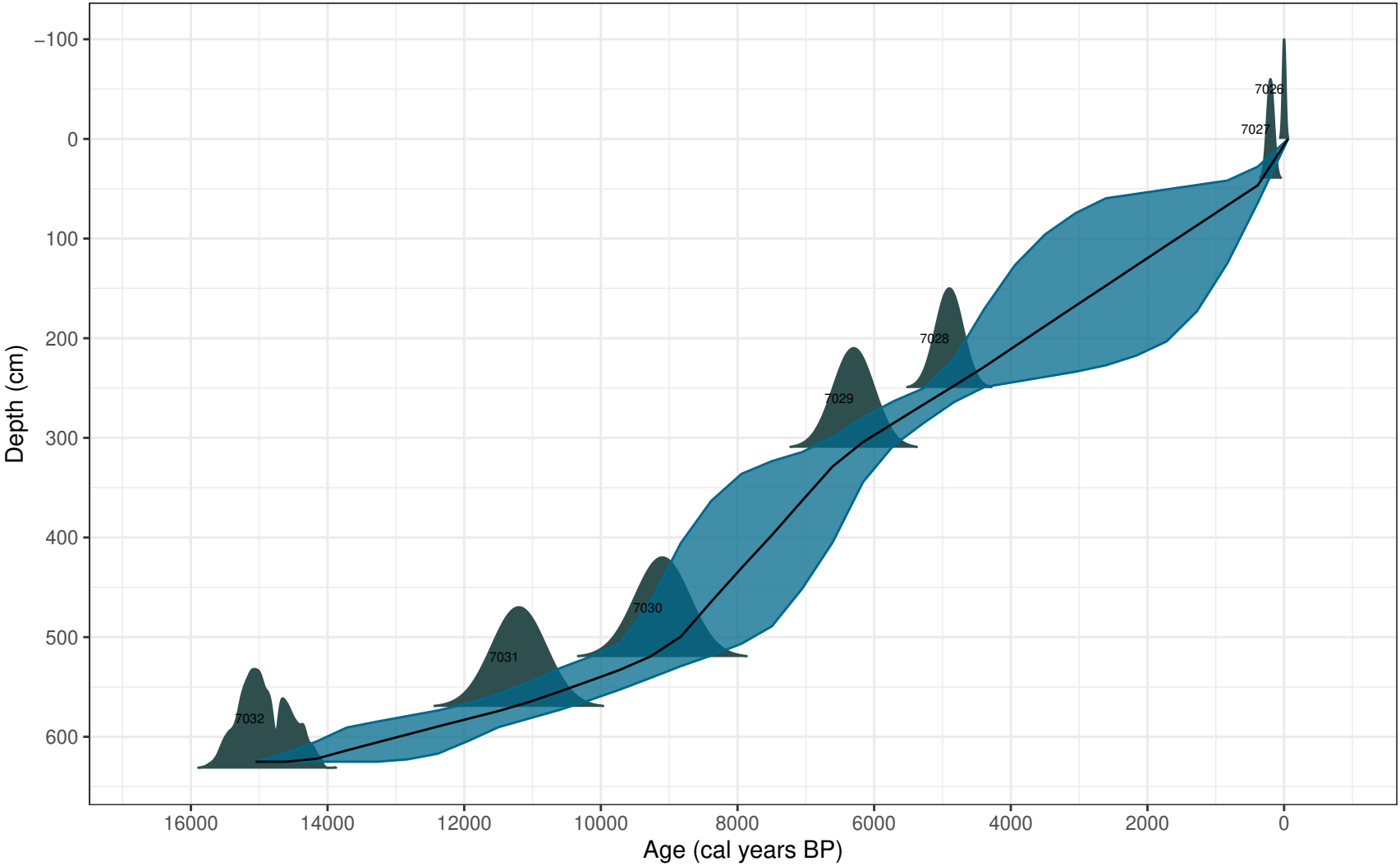

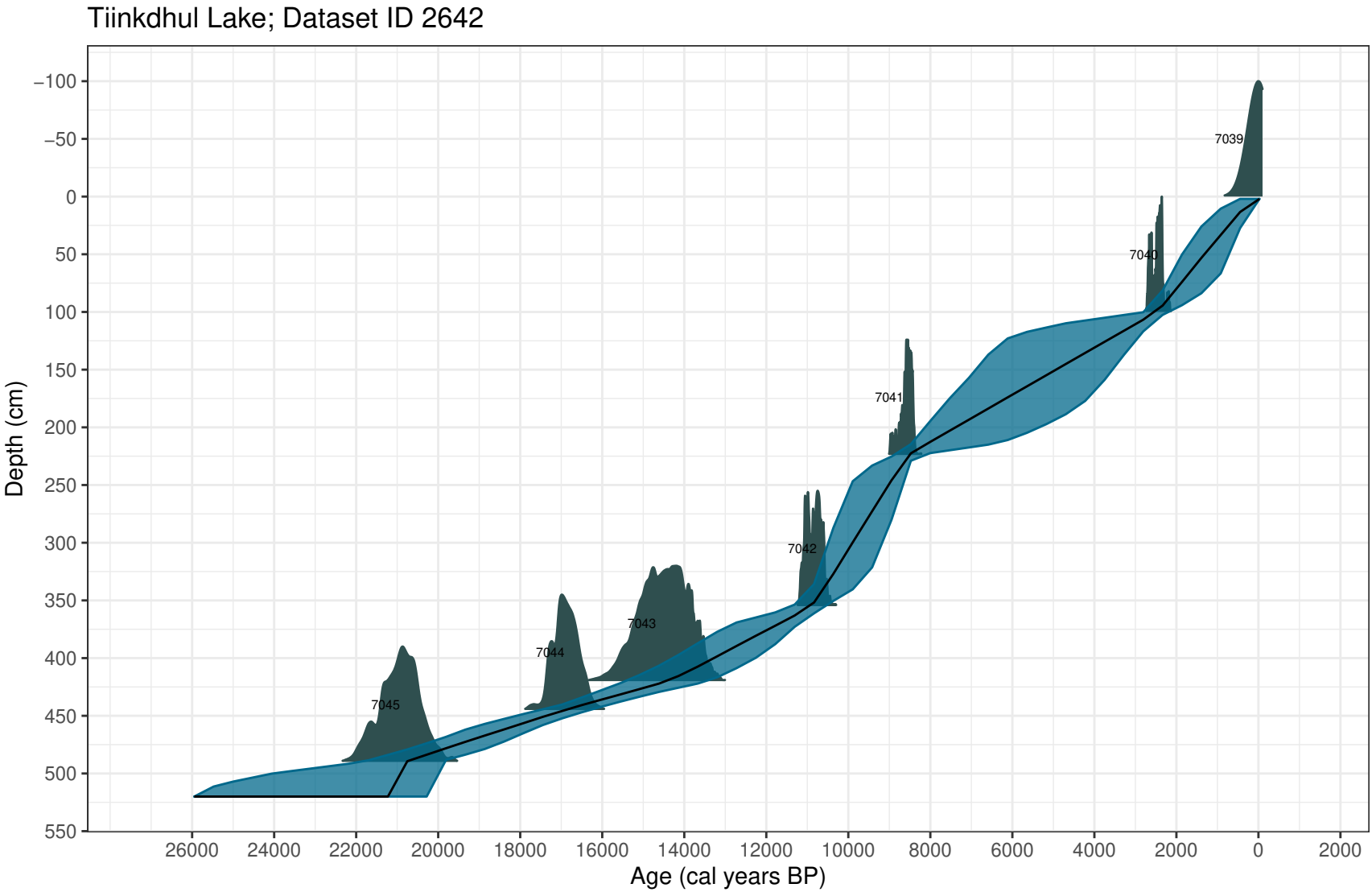
Tiinkdhul Lake; Dataset ID 2642
Depth (cm)
Age (cal years BP)
7039
7040
7041
7042
7043
7044
7045
−100
−50
0
50
100
150
200
250
300
350
400
450
500
550
26000
24000
22000
20000
18000
16000
14000
12000
10000
8000
6000
4000
2000
0
2000

Tioga Pass Pond; Dataset ID 2644

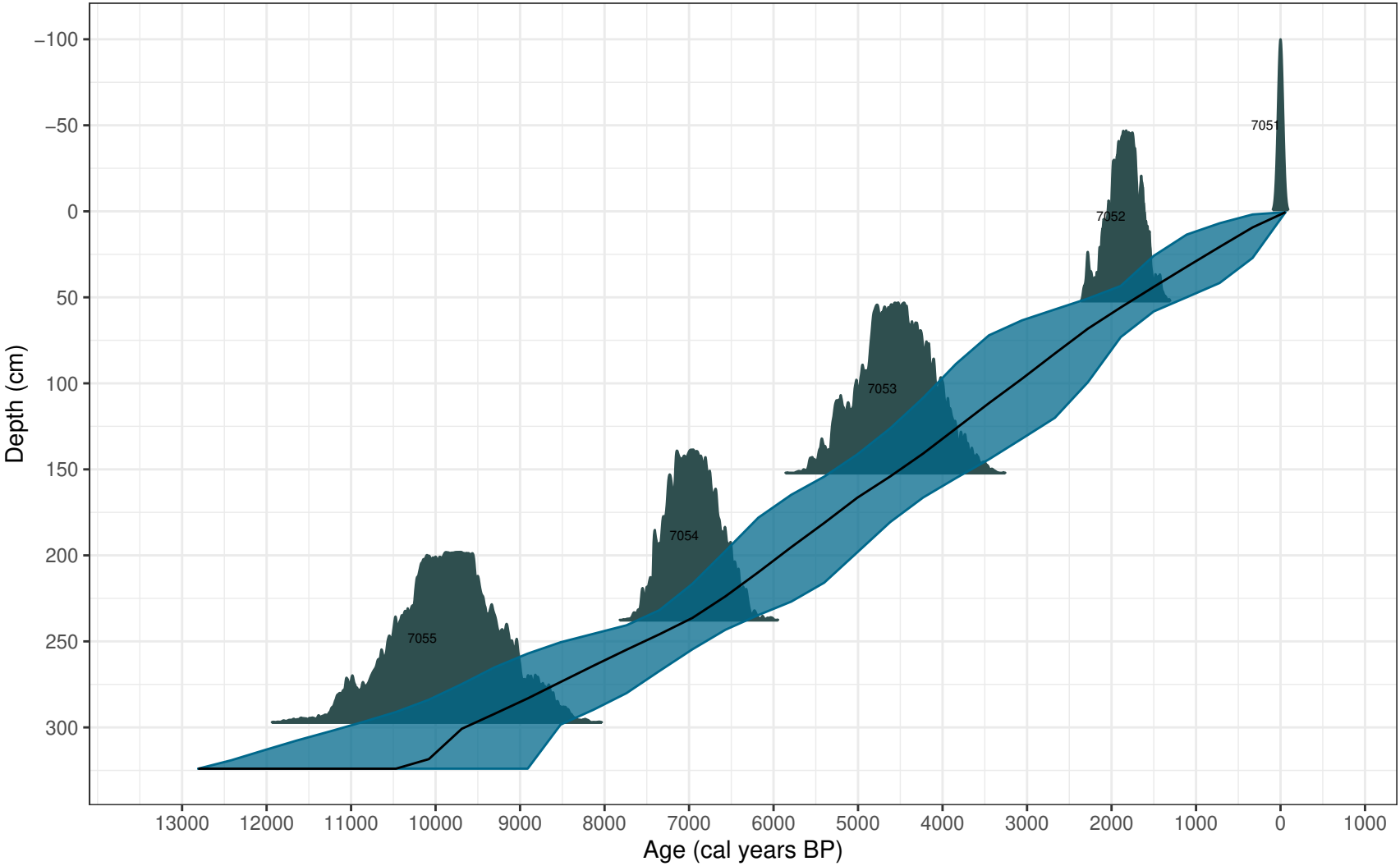

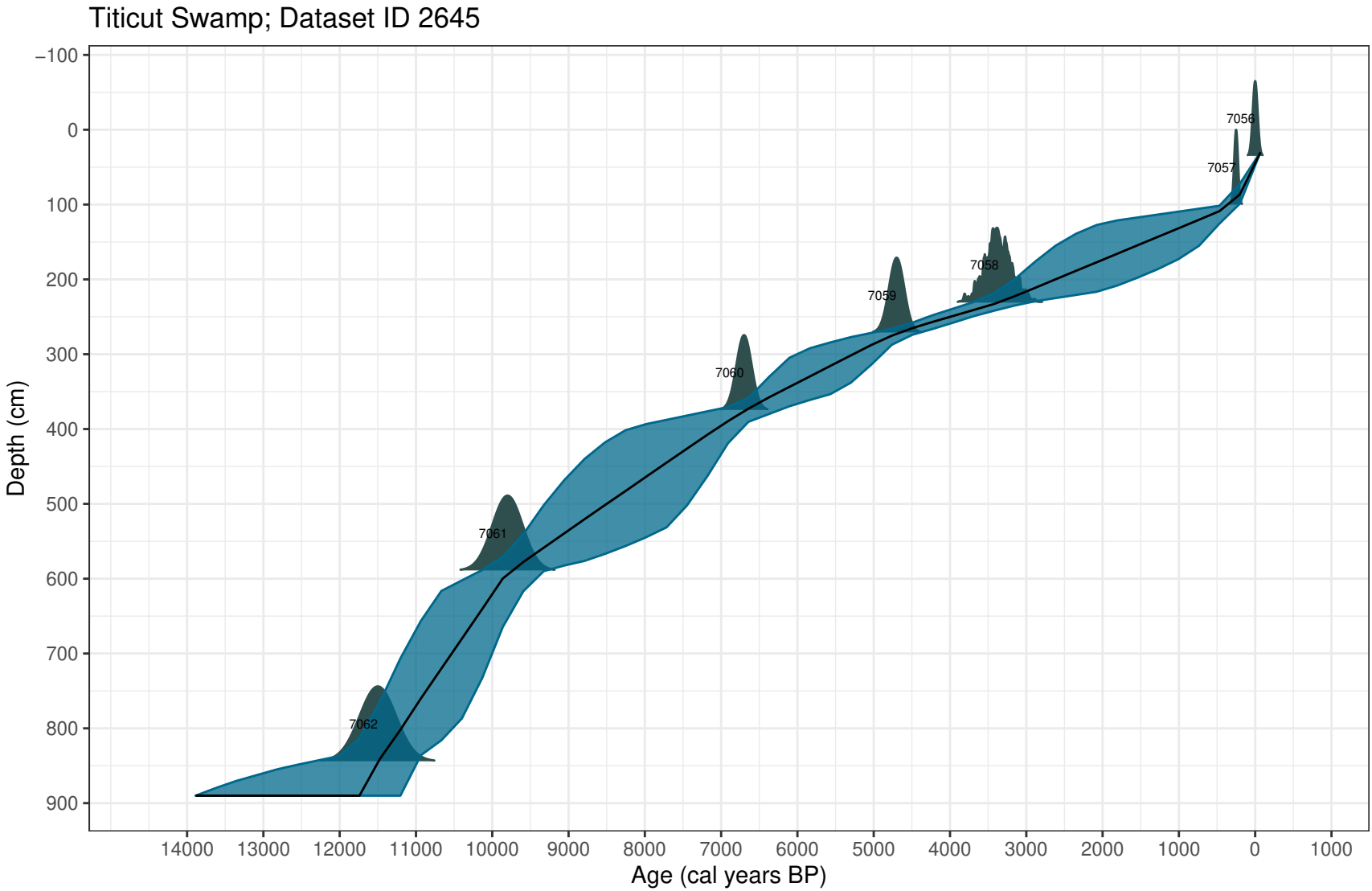
Titicut Swamp; Dataset ID 2645
Depth (cm)
−100
0
100
200
300
400
500
600
700
800
900
Age (cal years BP)
14000
13000
12000
11000
10000
9000
8000
7000
6000
5000
4000
3000
2000
1000
0
1000
7056
7057
7058
7059
7060
7061
7062

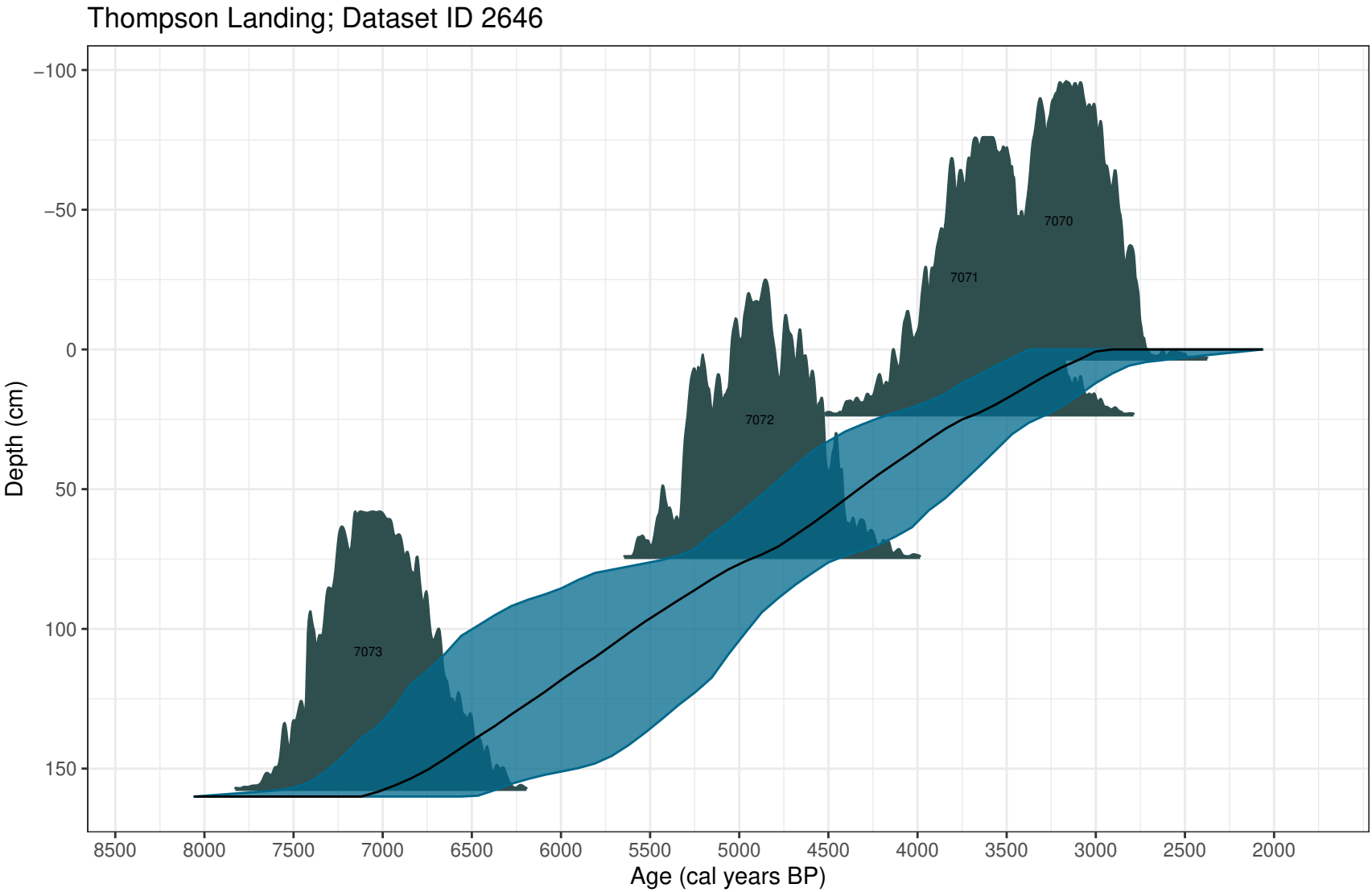
Thompson Landing; Dataset ID 2646
Depth (cm)
−100
−50
0
50
100
150
7070
7071
7072
7073
8500
8000
7500
7000
6500
6000
5500
5000
4500
4000
3500
3000
2500
2000
Age (cal years BP)

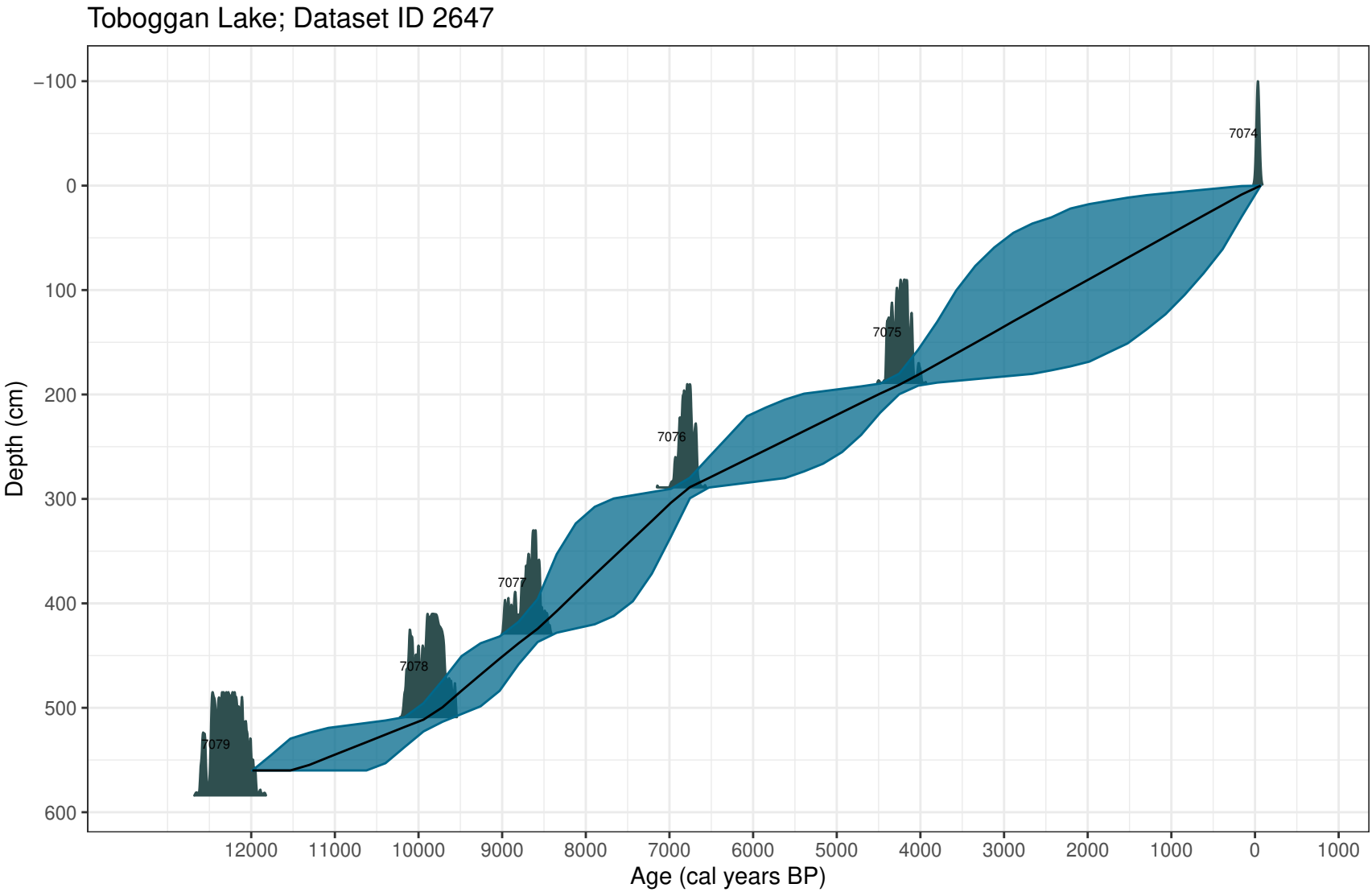
Toboggan Lake; Dataset ID 2647
Depth (cm)
−100
0
100
200
300
400
500
600
Age (cal years BP)
12000
11000
10000
9000
8000
7000
6000
5000
4000
3000
2000
1000
0
1000
7074
7075
7076
7077
7078
7079

Tonawa Lake; Dataset ID 2651

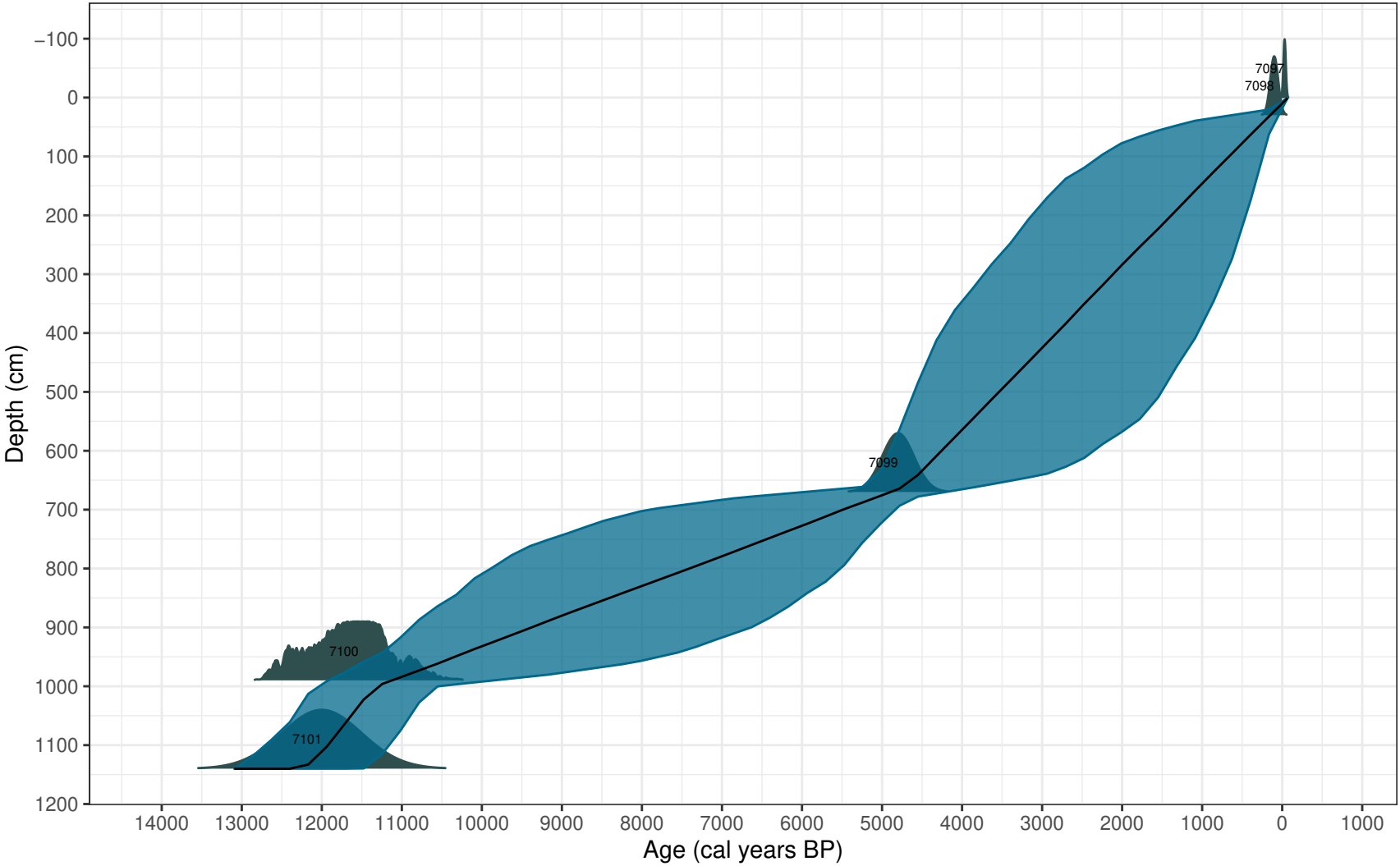

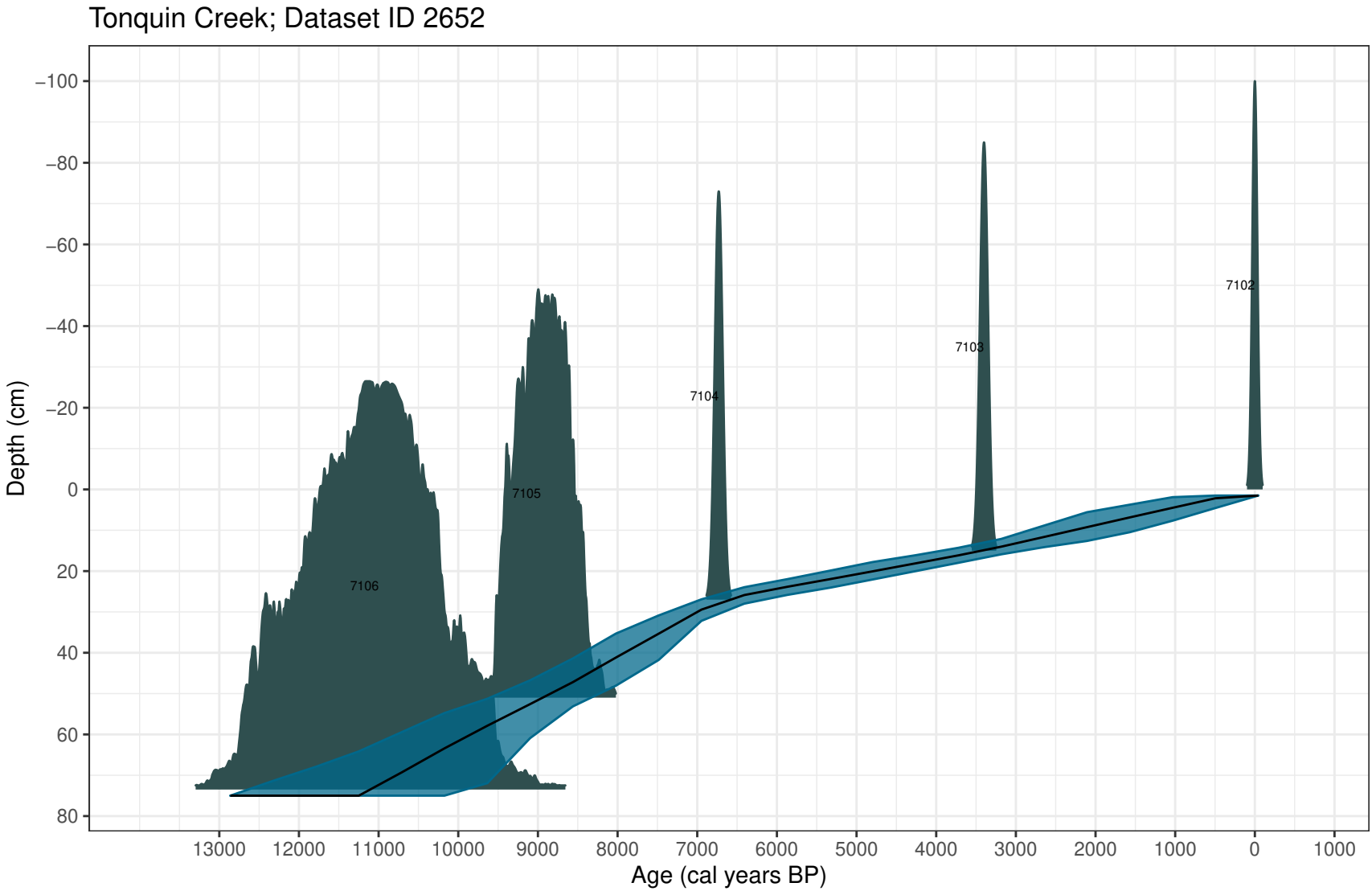
Tonquin Creek; Dataset ID 2652
Depth (cm)
−100
−80
−60
−40
−20
0
20
40
60
80
7106
7105
7104
7103
7102
13000
12000
11000
10000
9000
8000
7000
6000
5000
4000
3000
2000
1000
0
1000
Age (cal years BP)

Lac à la Tortue; Dataset ID 2654

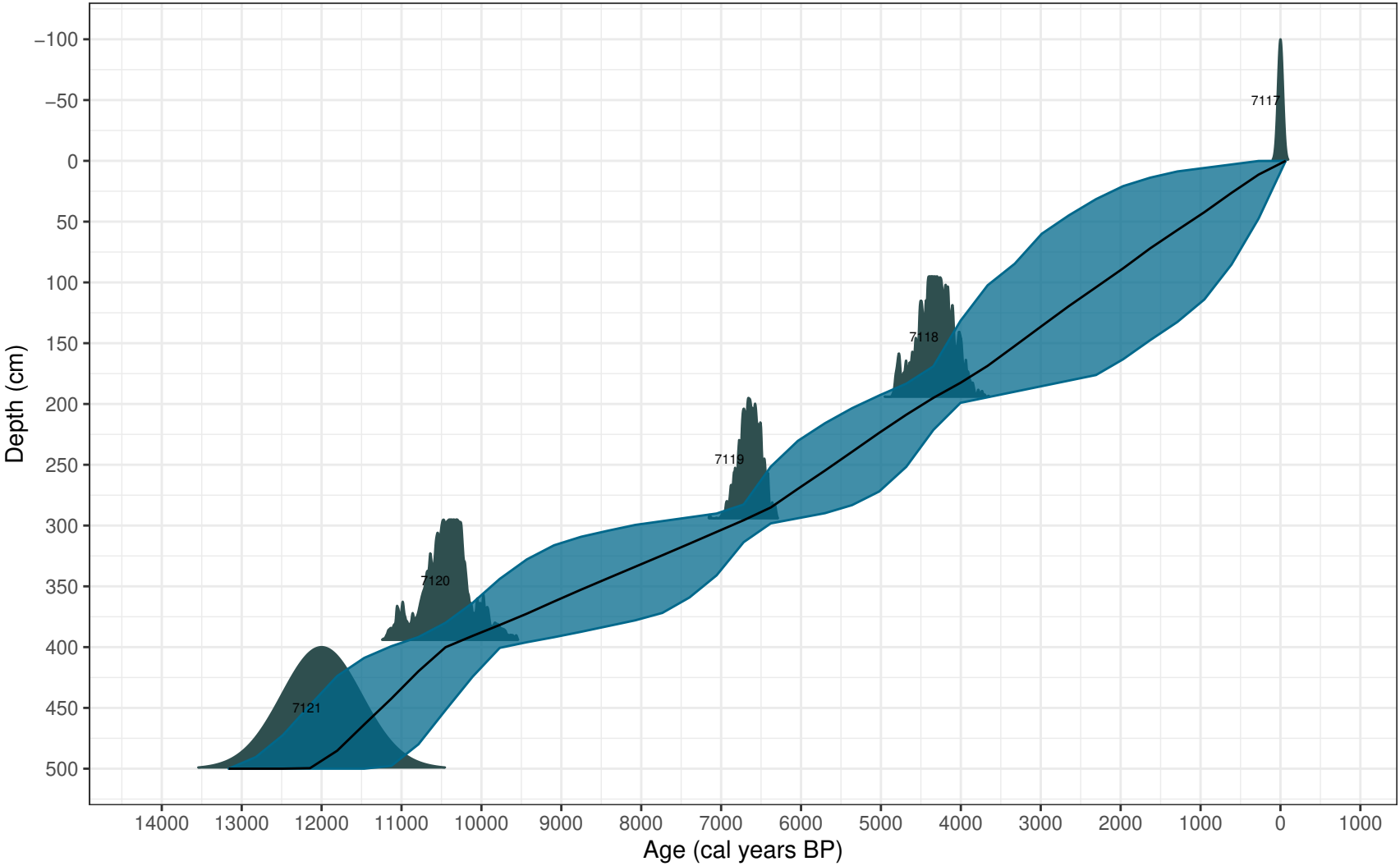

Tuktoyaktuk 5; Dataset ID 2661

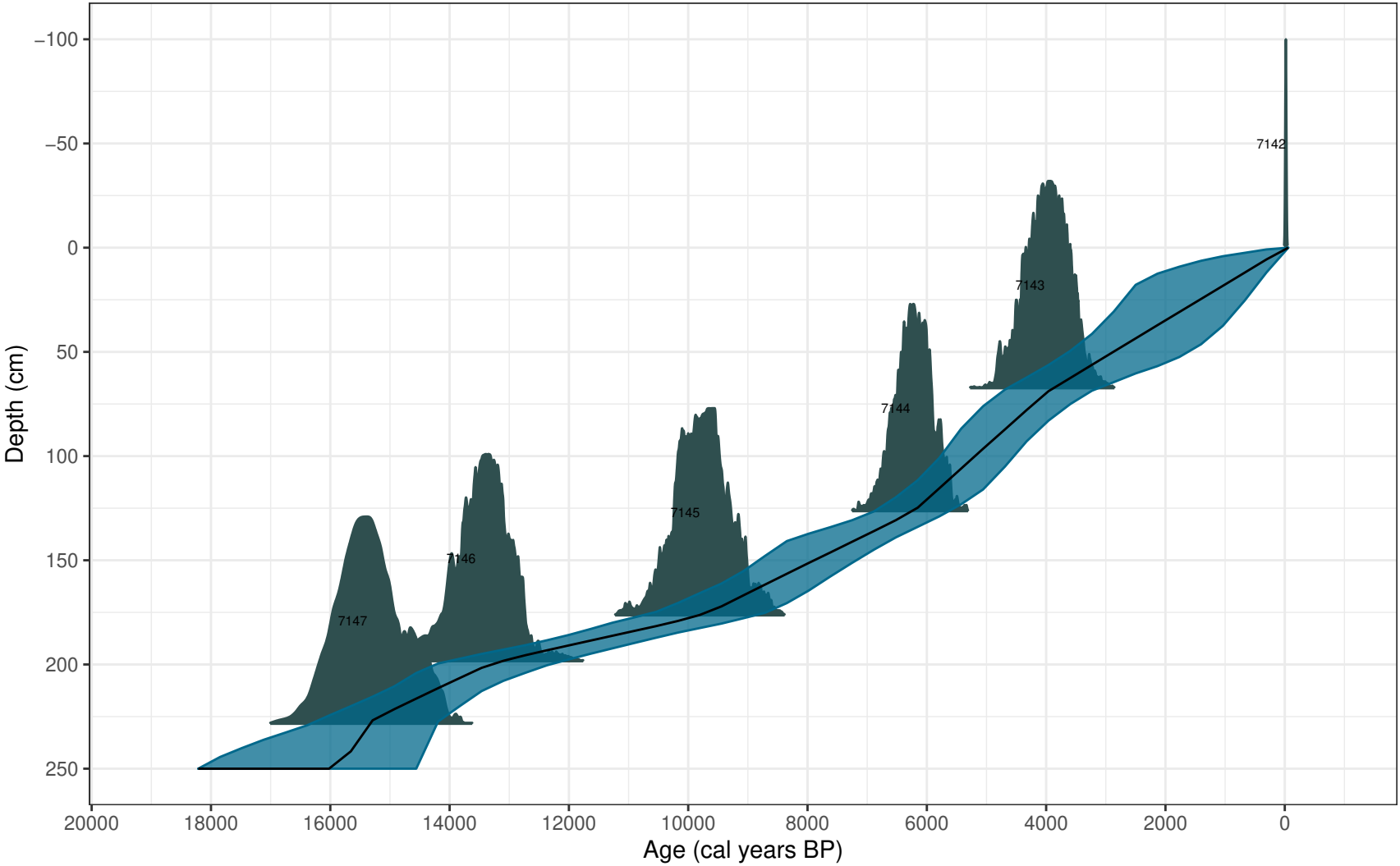

Lake Tulane; Dataset ID 2663

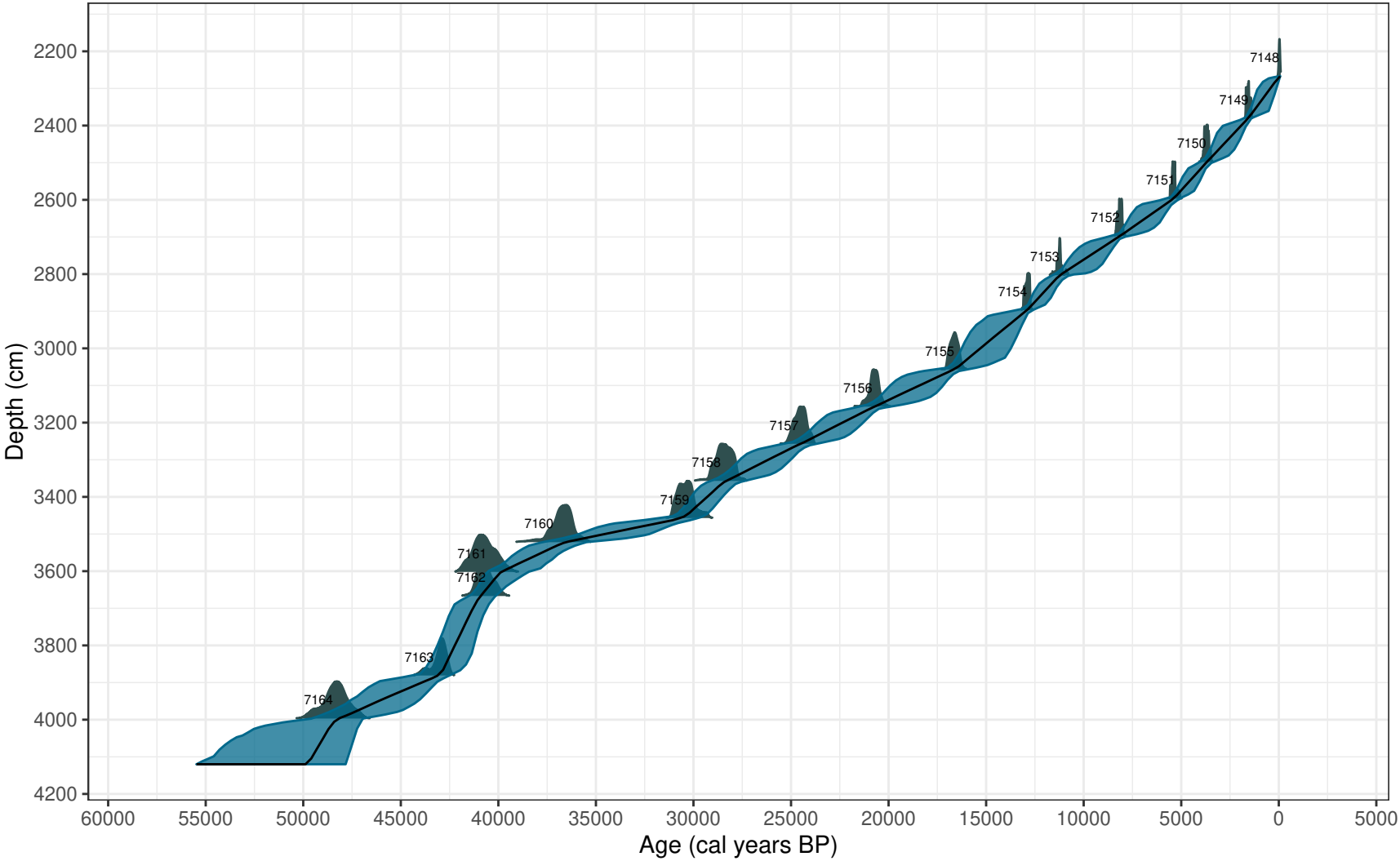

Tunturi Lake; Dataset ID 2669

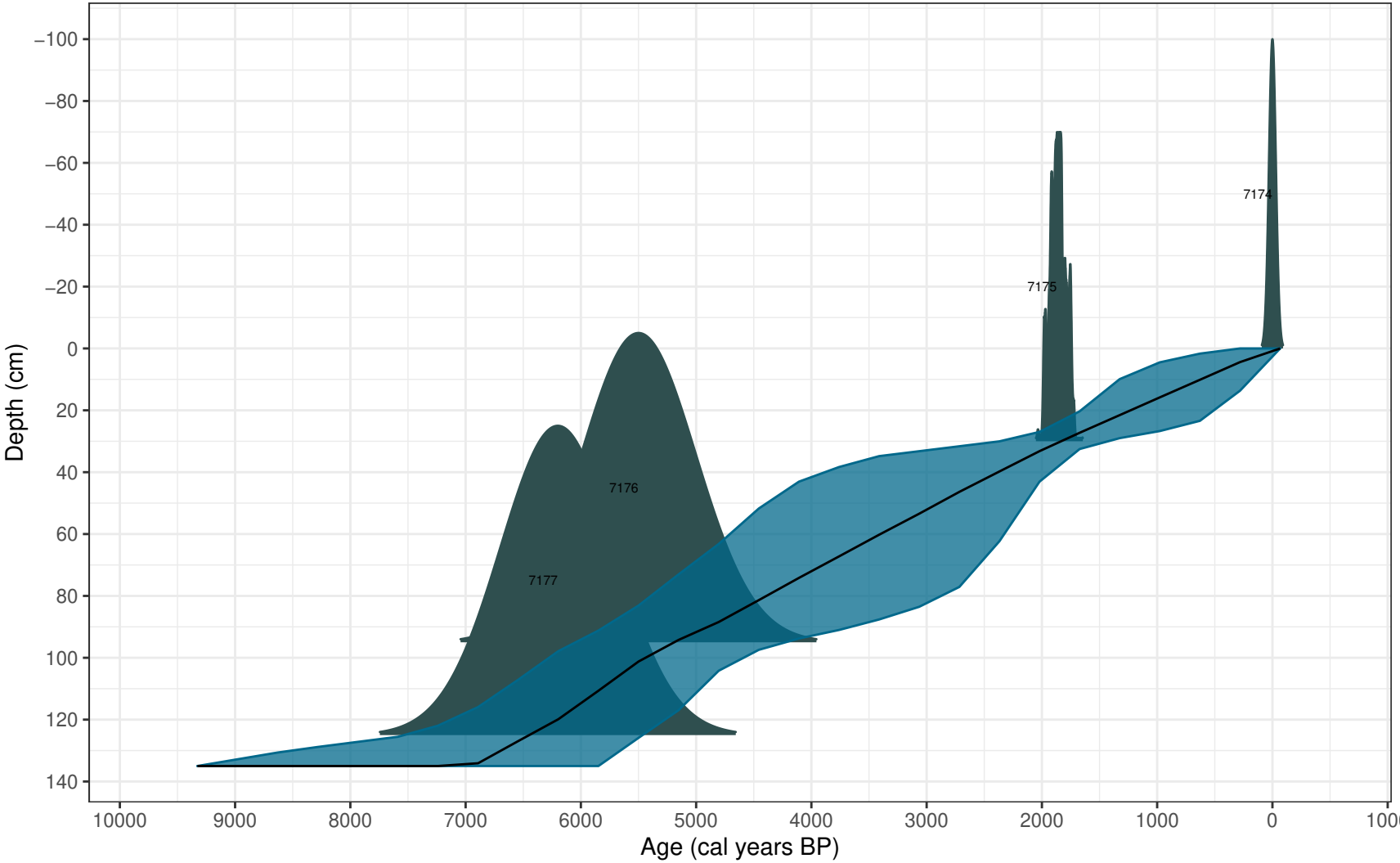

Banks Island 74MS11; Dataset ID 267

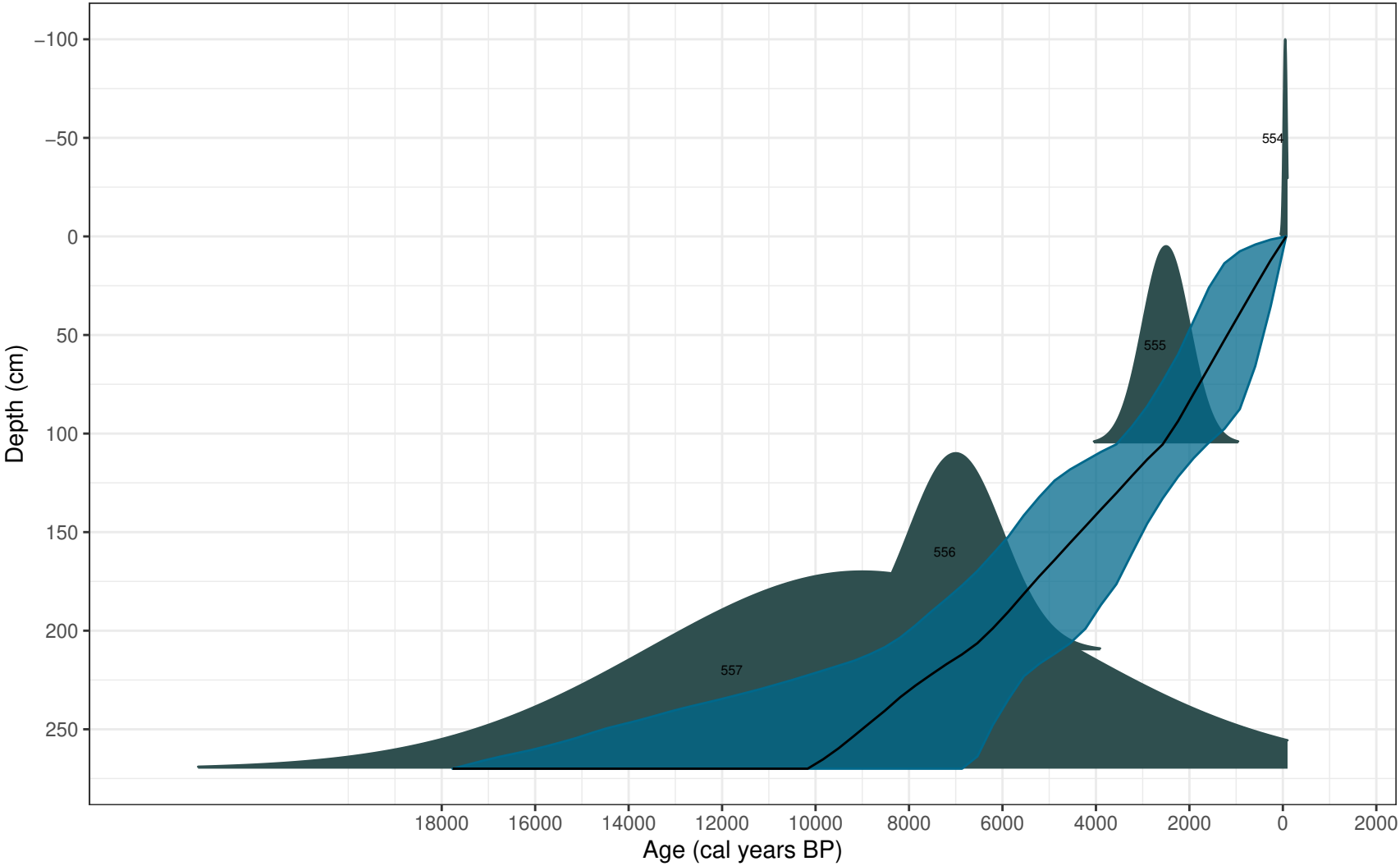

Lac Turcotte; Dataset ID 2671

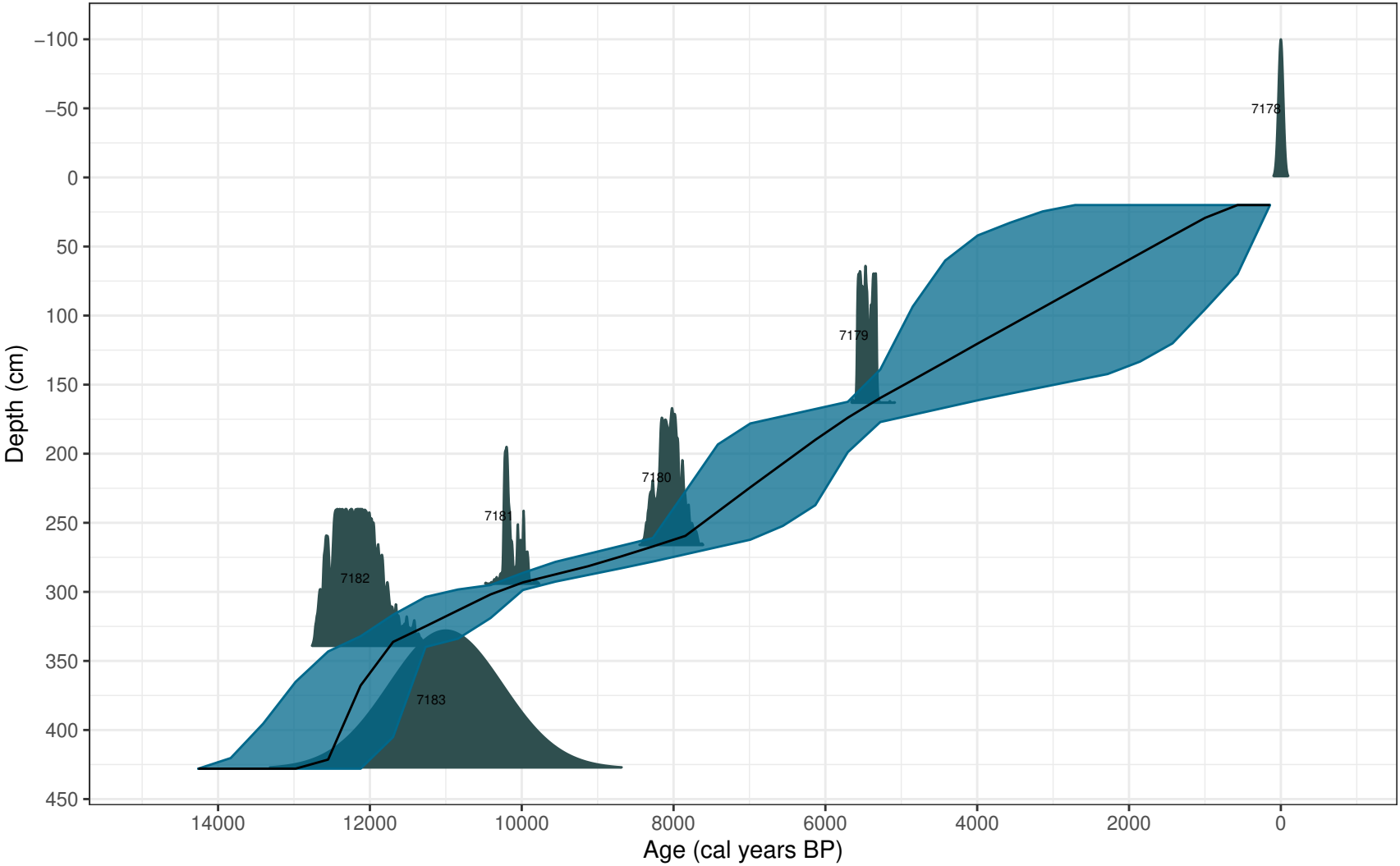

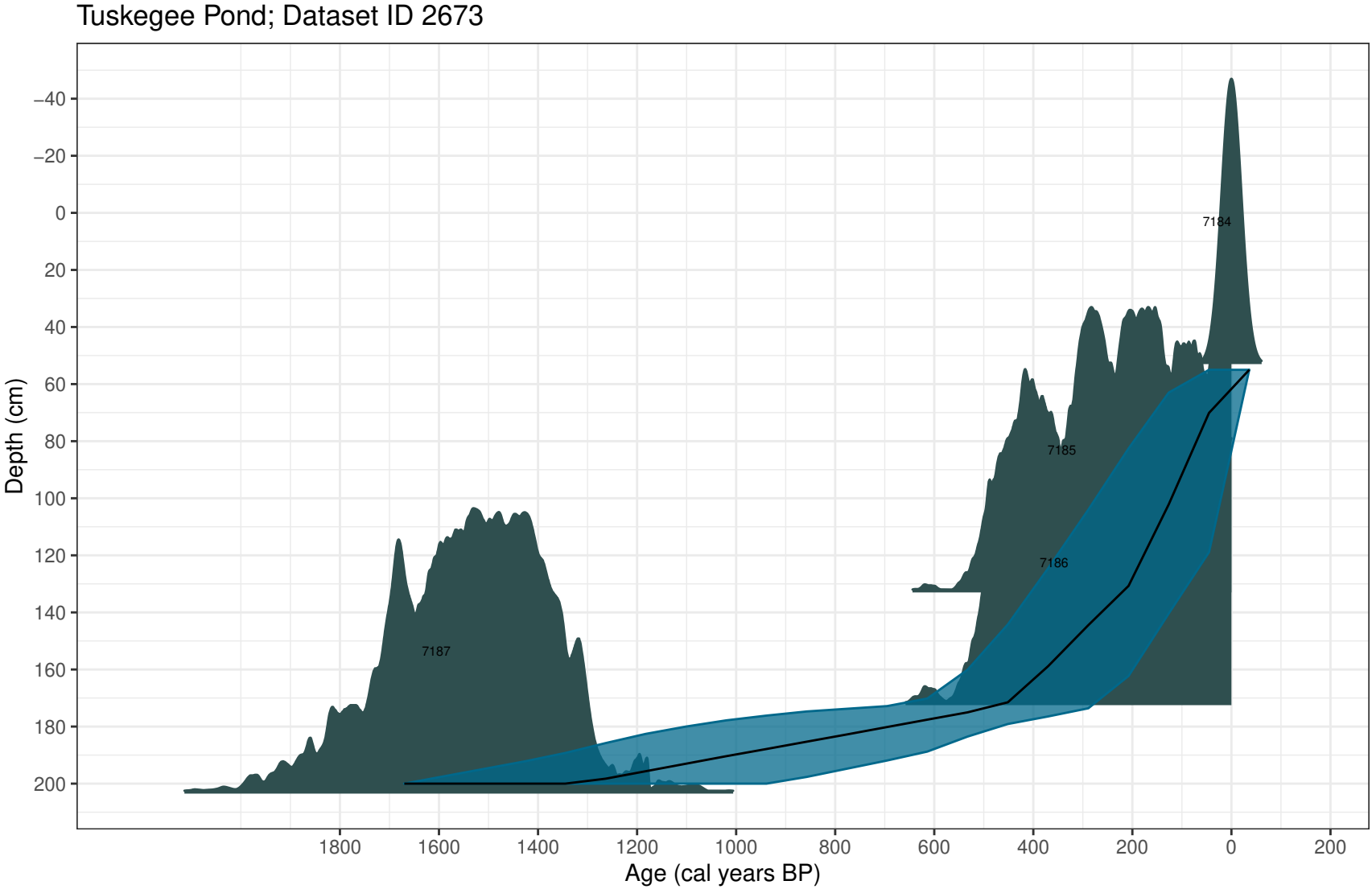
Tuskegee Pond; Dataset ID 2673
Depth (cm)
−40
−20
0
20
40
60
80
100
120
140
160
180
200
7184
7185
7186
7187
1800
1600
1400
1200
1000
800
600
400
200
0
200
Age (cal years BP)

Banks Island 74MS12; Dataset ID 268

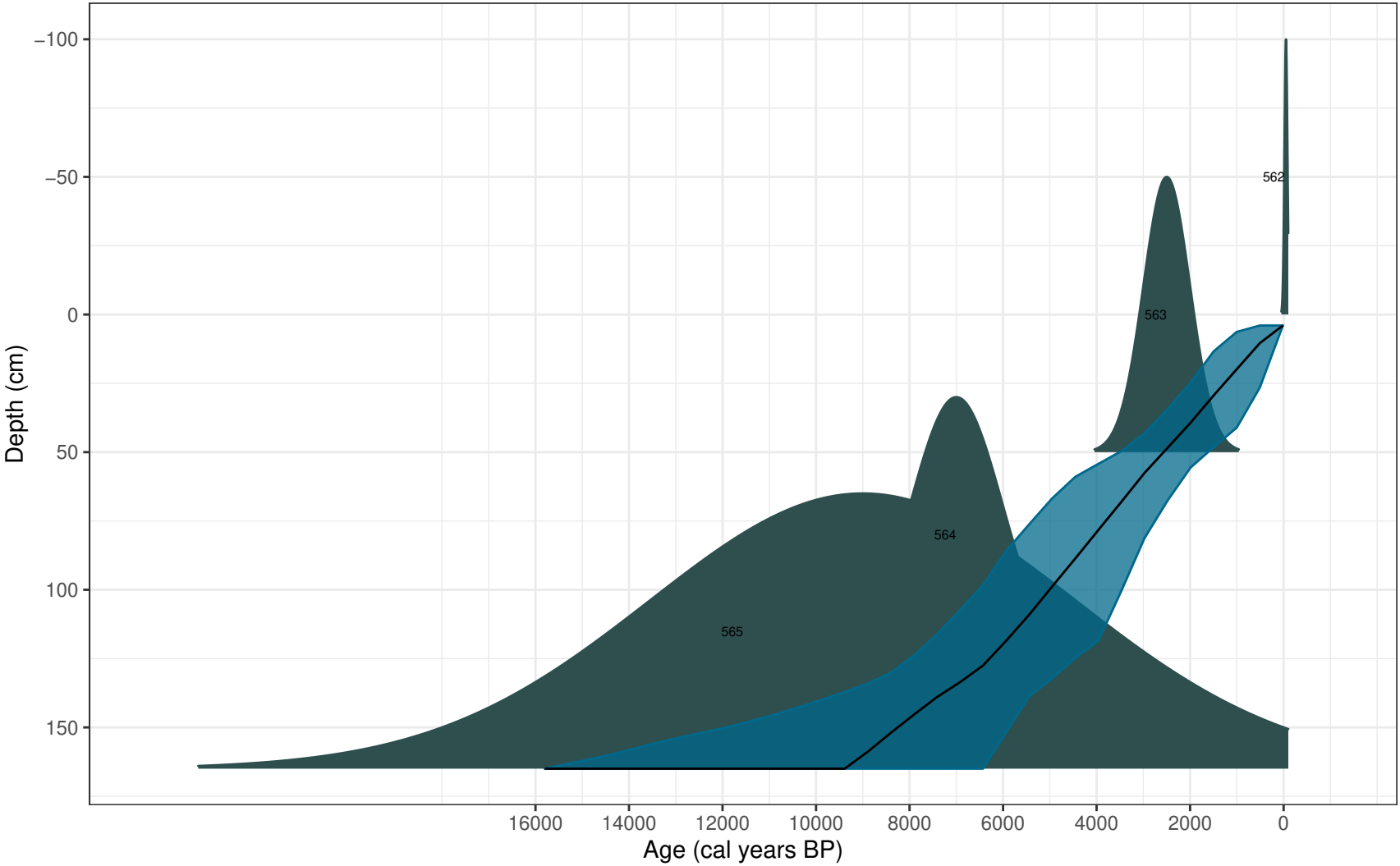

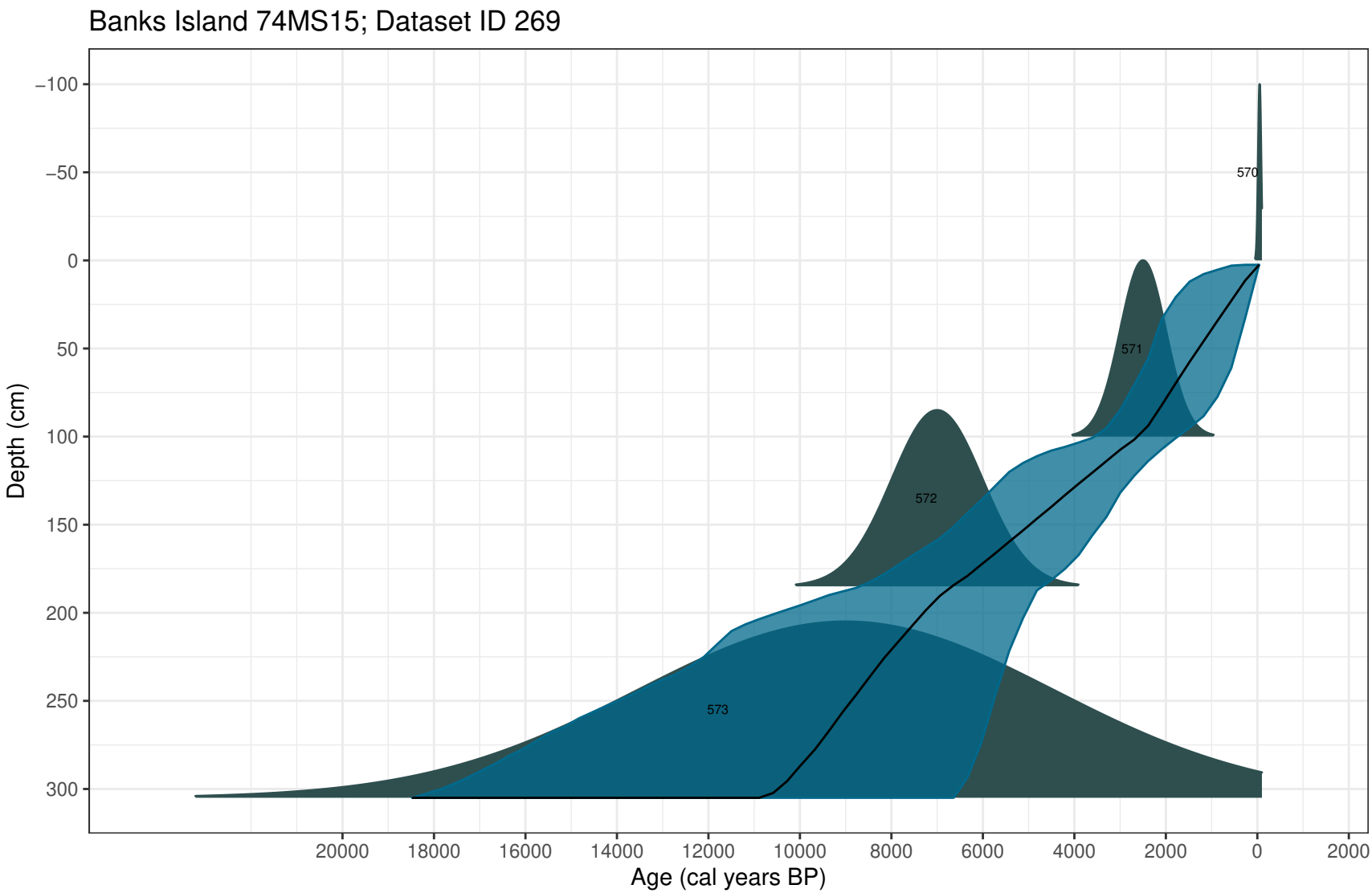
Banks Island 74MS15; Dataset ID 269
Depth (cm)
−100
−50
0
50
100
150
200
250
300
570
571
572
573
20000
18000
16000
14000
12000
10000
8000
6000
4000
2000
0
2000
Age (cal years BP)

Aliuk Pond; Dataset ID 27

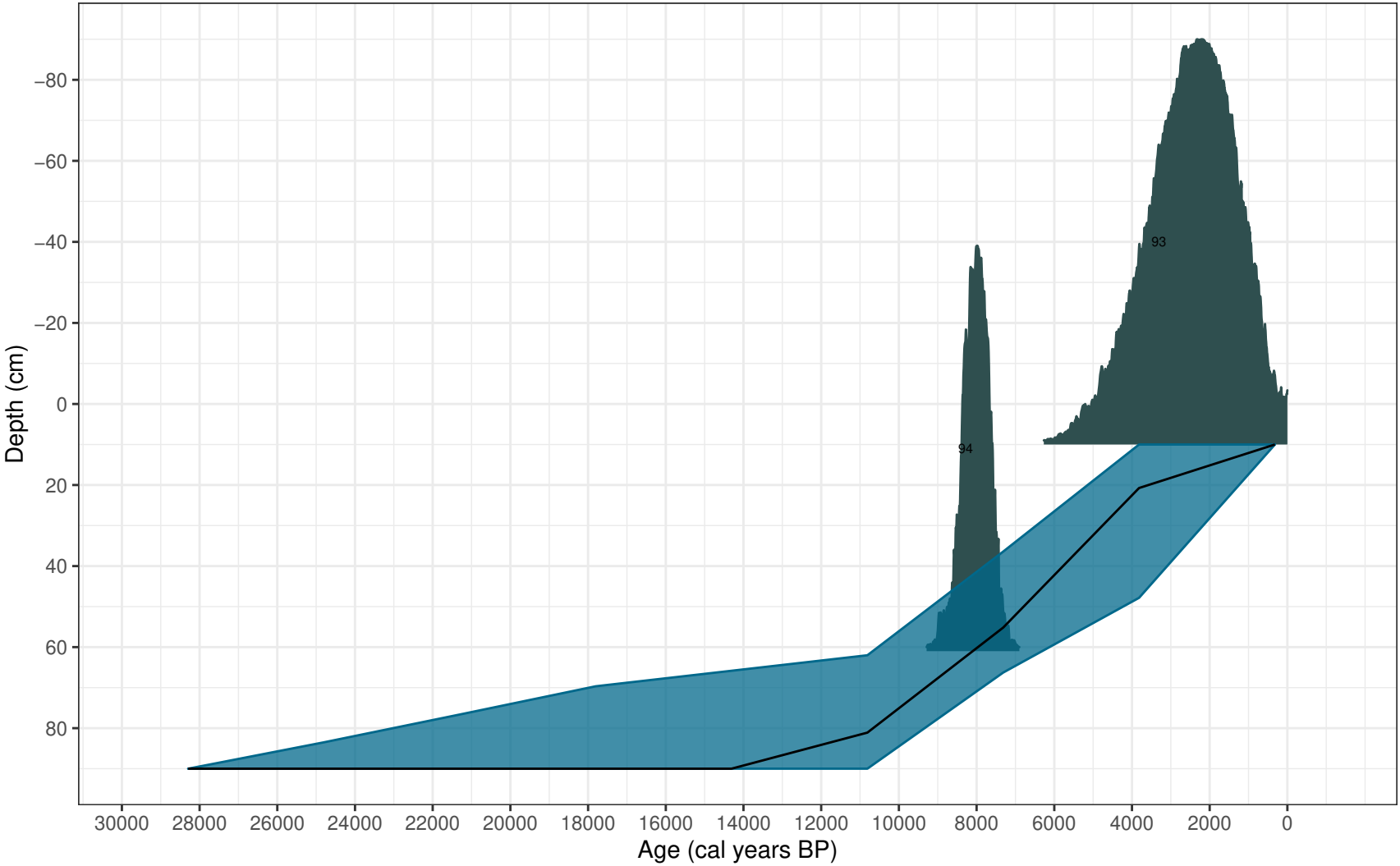

Big John Pond; Dataset ID 272

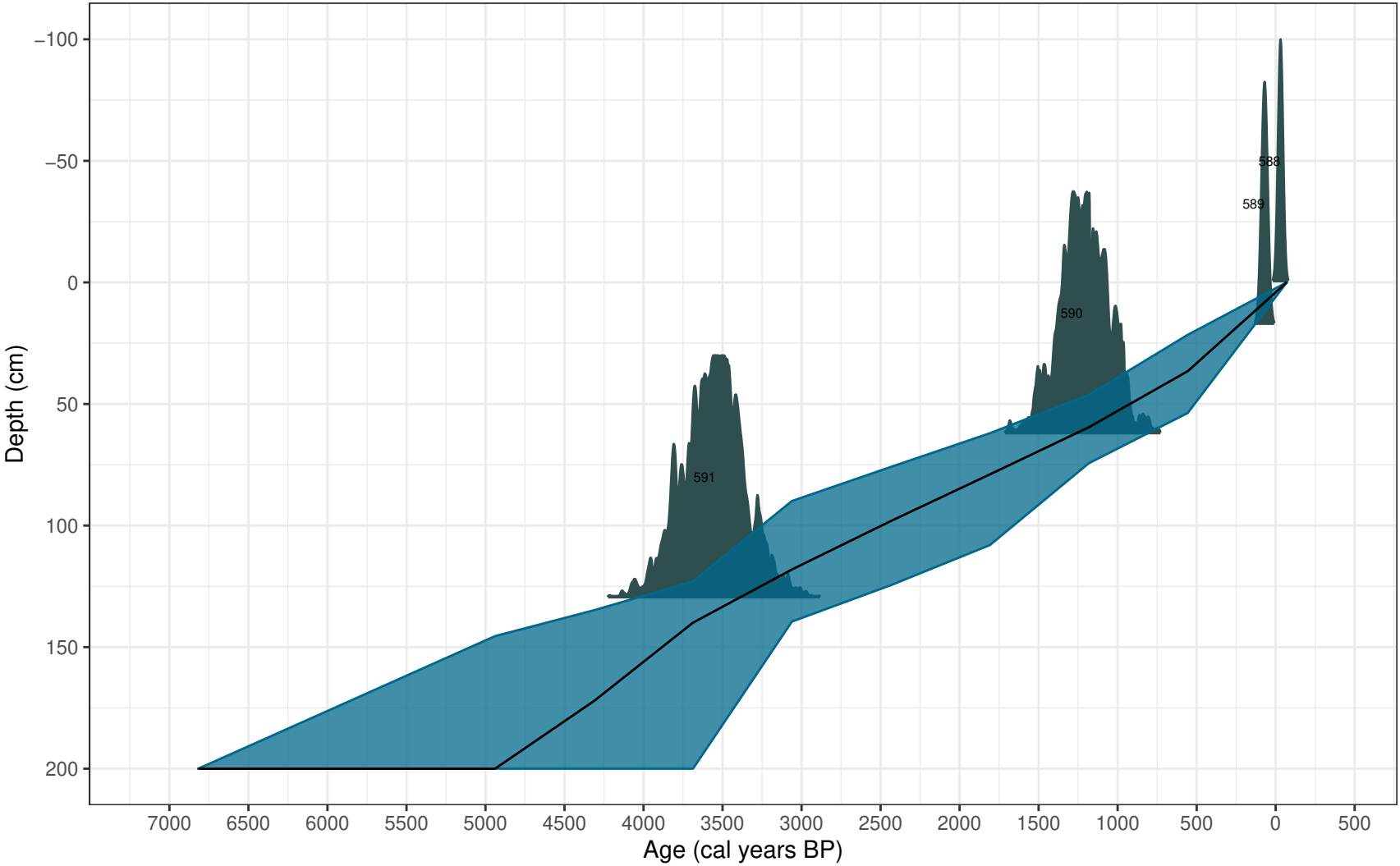

Big Pond; Dataset ID 274

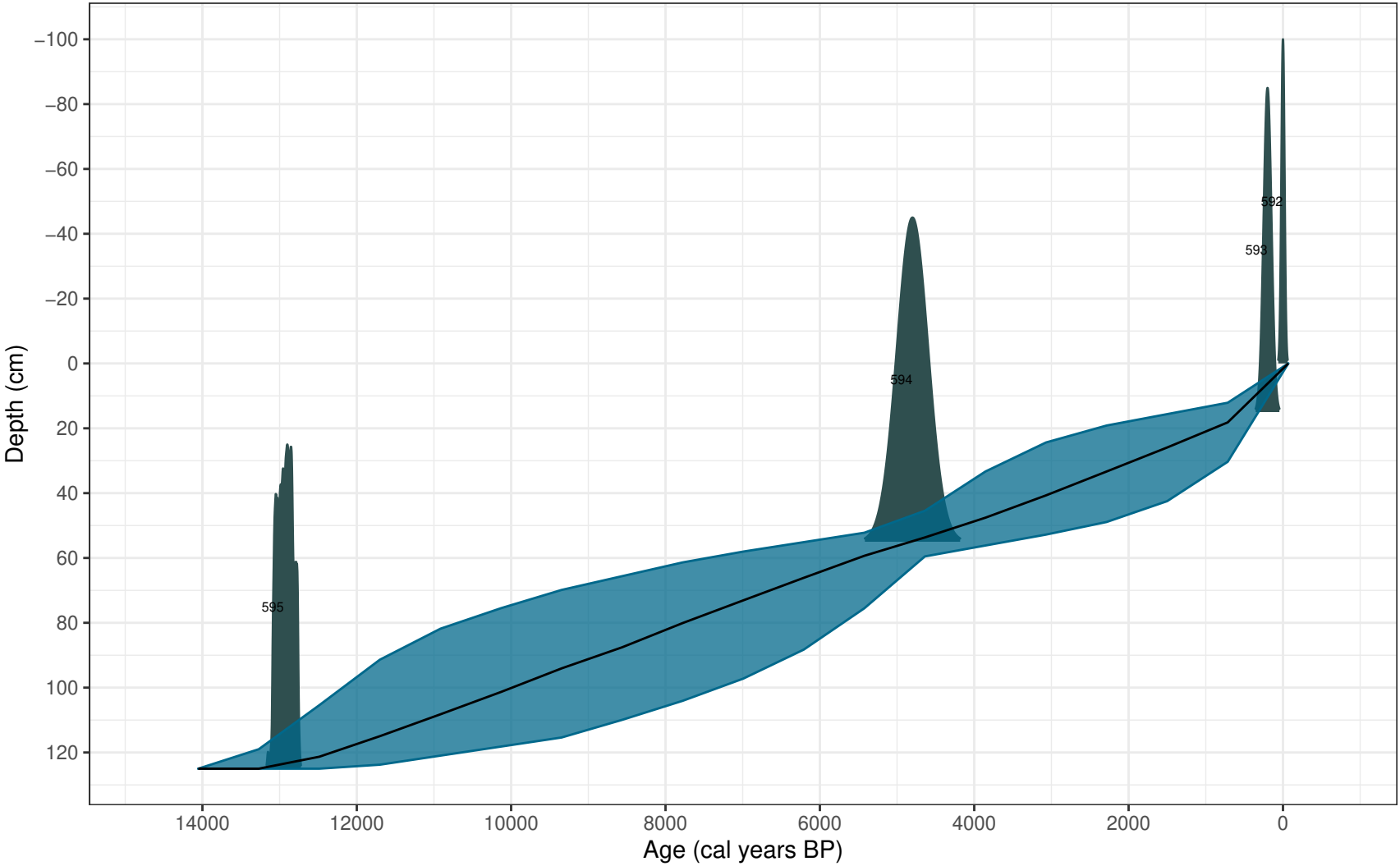

Bishops Falls; Dataset ID 276

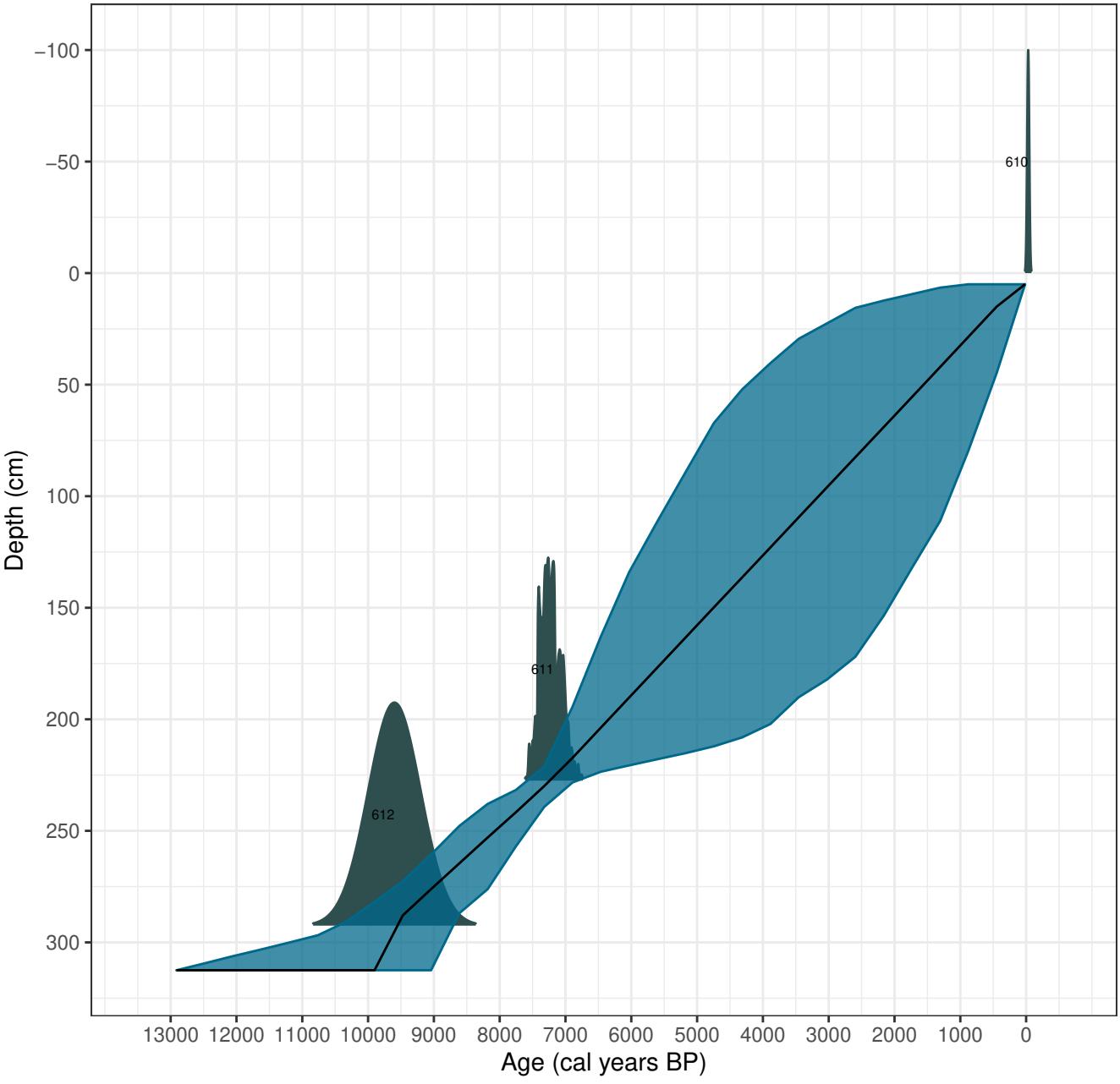

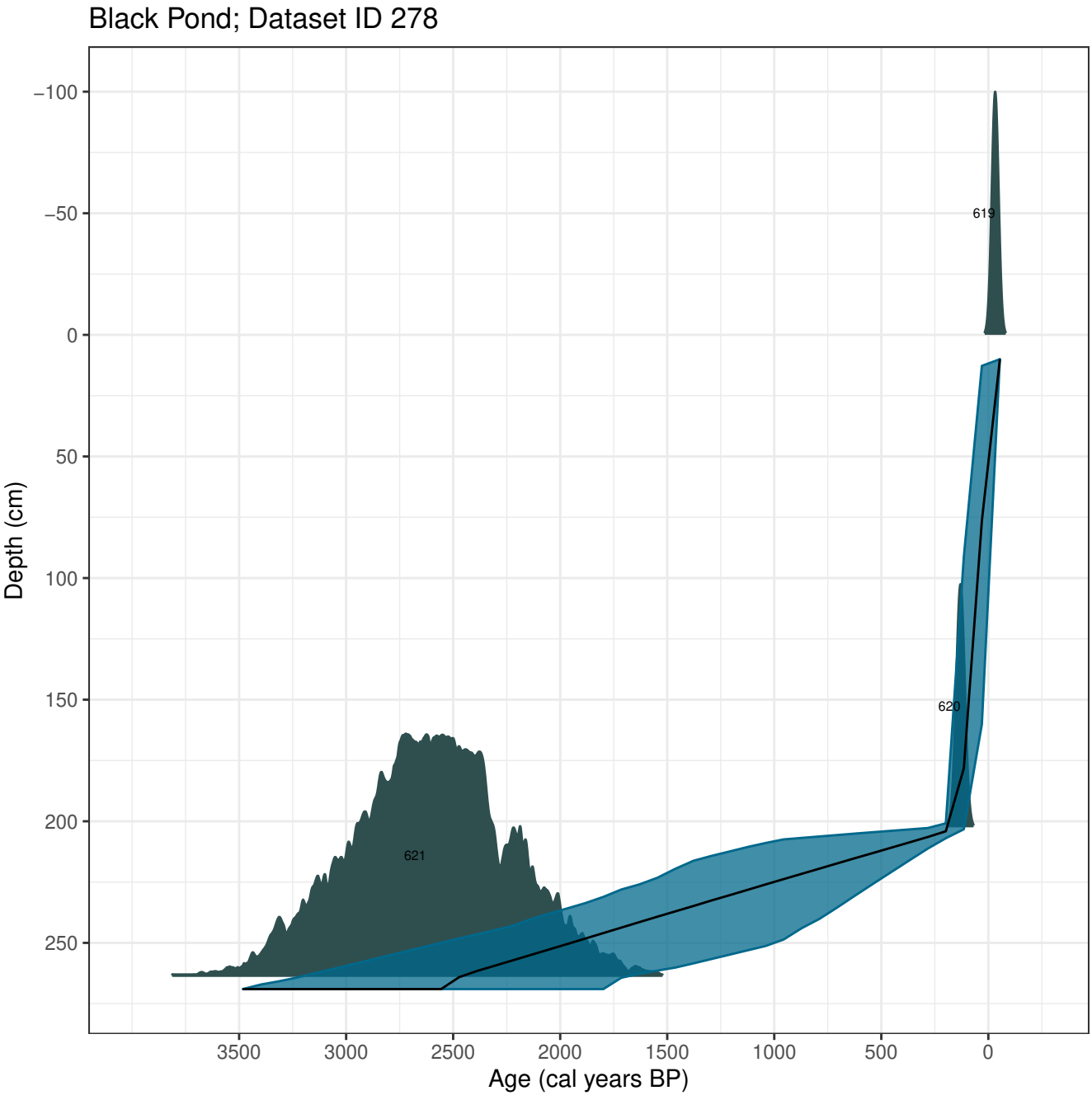
Black Pond; Dataset ID 278
Depth (cm)
−100
−50
0
50
100
150
200
250
619
620
621
3500
3000
2500
2000
1500
1000
500
0
Age (cal years BP)

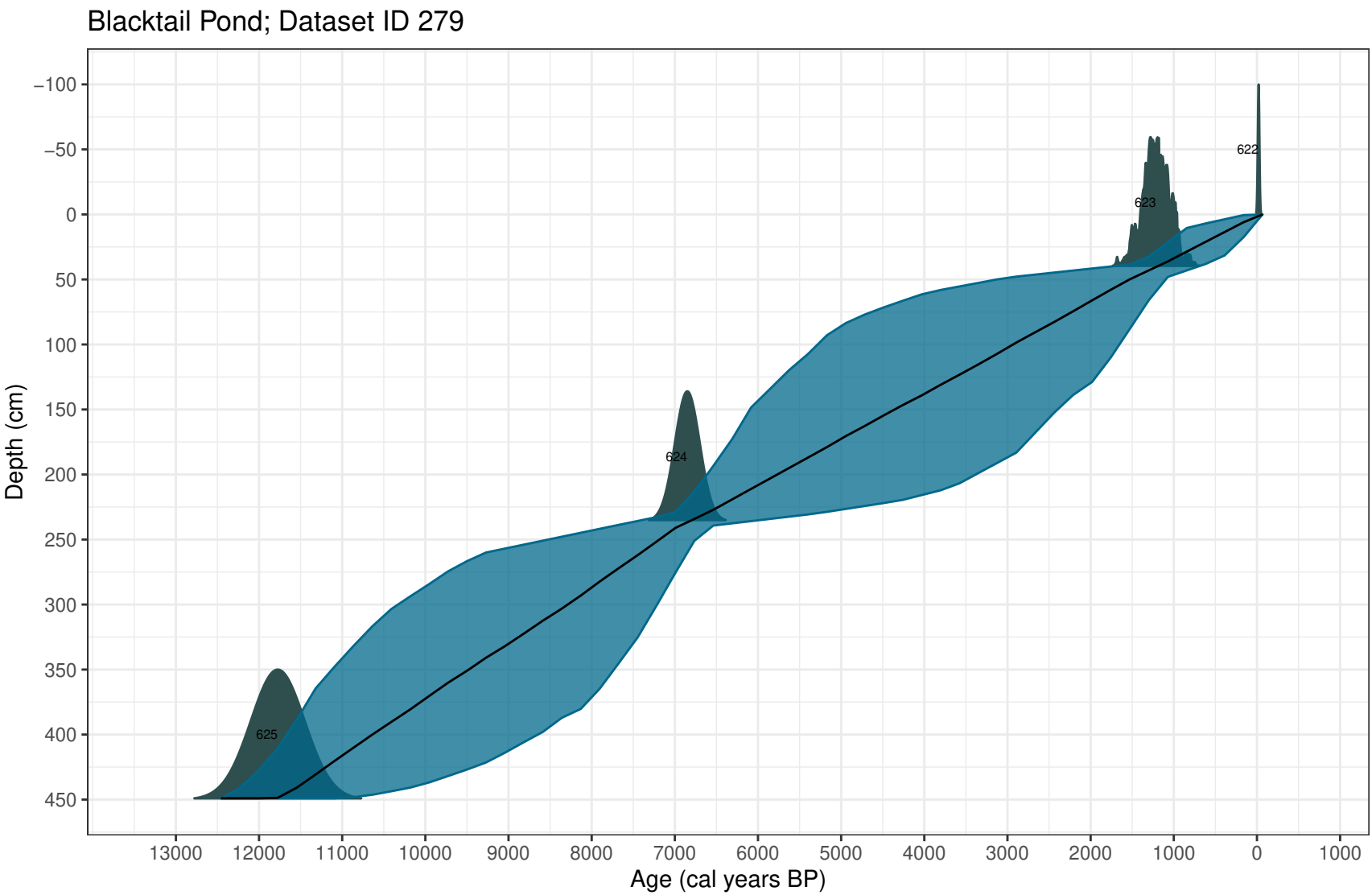
Blacktail Pond; Dataset ID 279
Depth (cm)
−100
−50
0
50
100
150
200
250
300
350
400
450
622
623
624
625
13000
12000
11000
10000
9000
8000
7000
6000
5000
4000
3000
2000
1000
0
1000
Age (cal years BP)

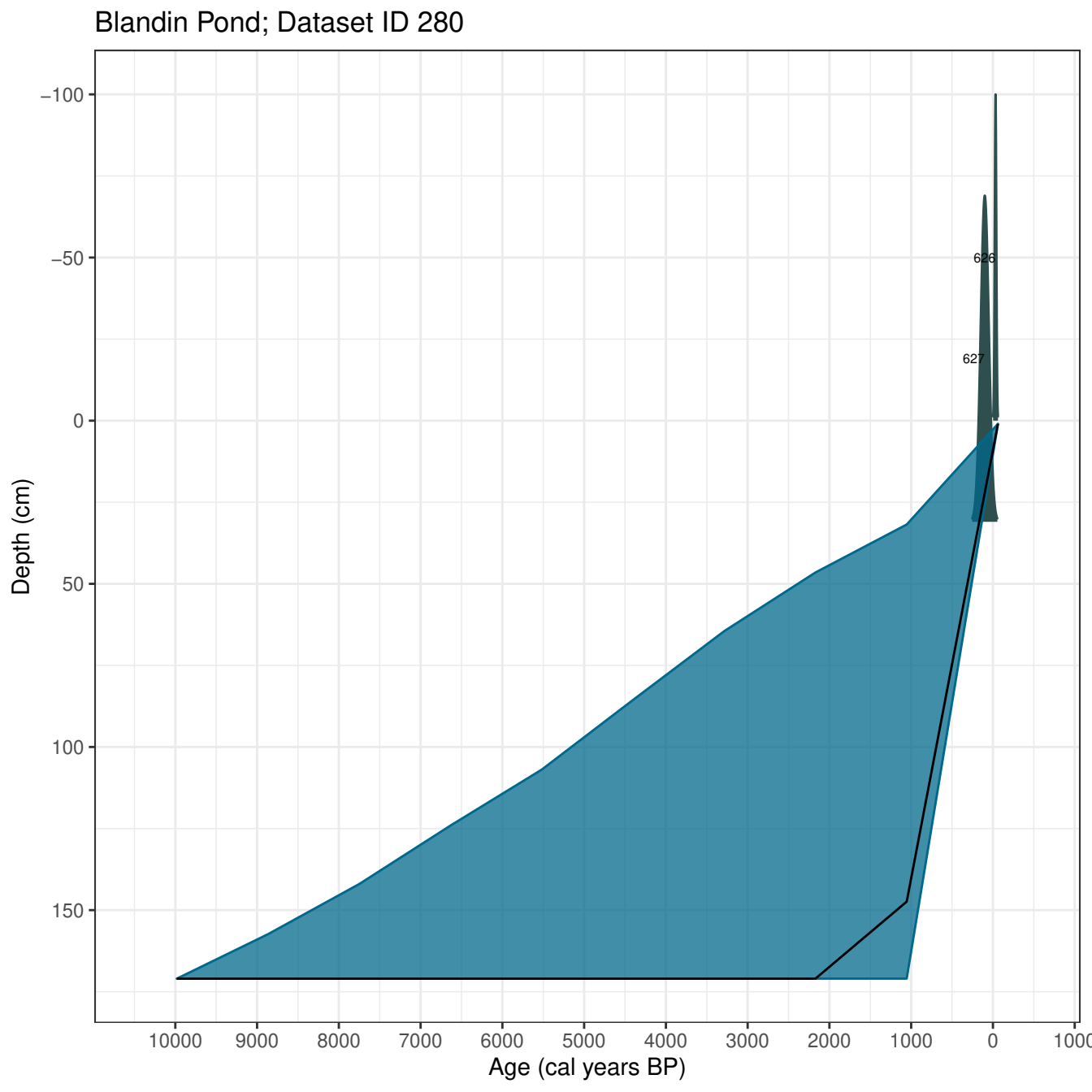
Blandin Pond; Dataset ID 280
Depth (cm)
−100
−50
0
50
100
150
626
627
10000
9000
8000
7000
6000
5000
4000
3000
2000
1000
0
1000
Age (cal years BP)

BL−Tombigbee; Dataset ID 281

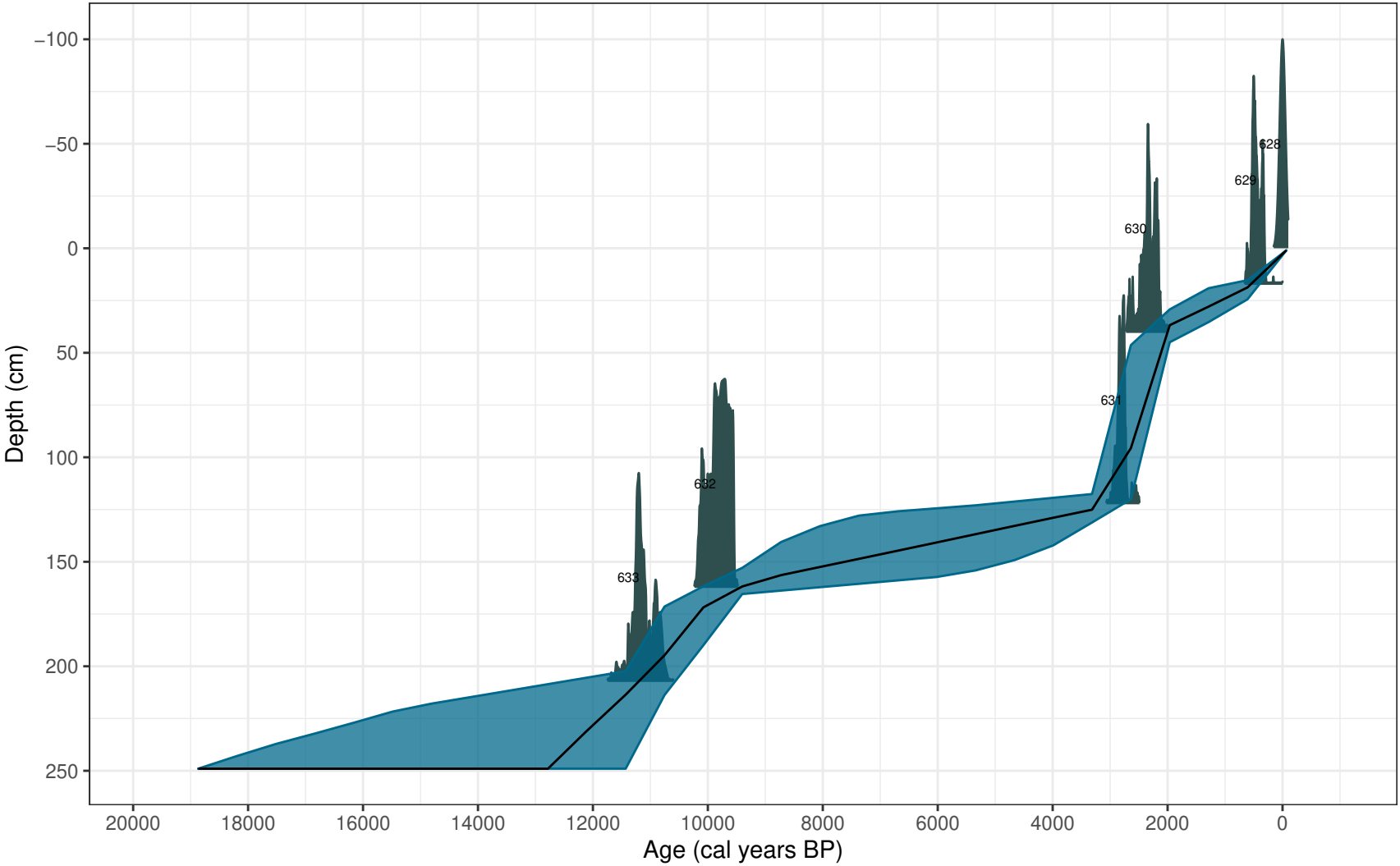

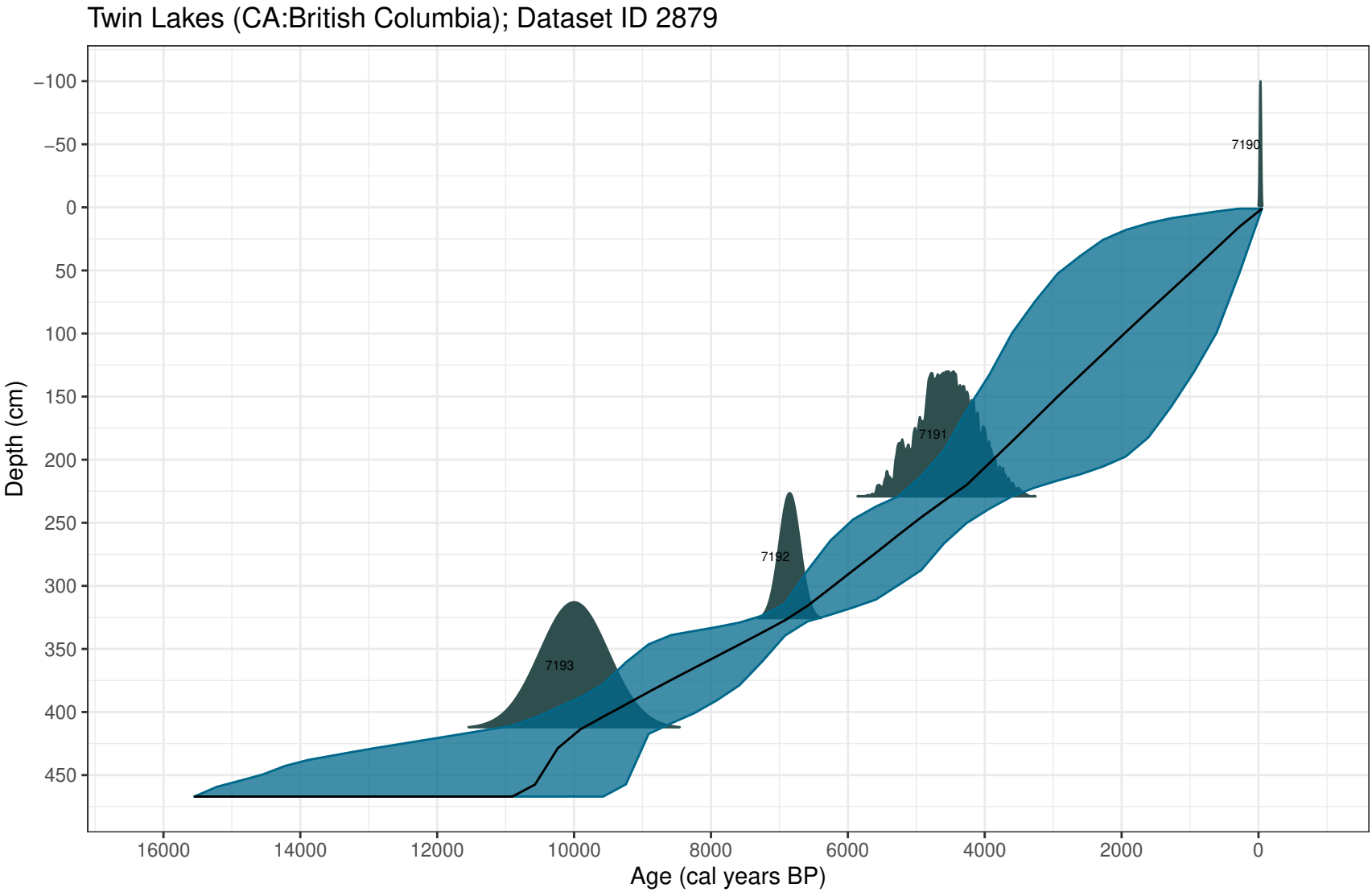
Twin Lakes (CA:British Columbia); Dataset ID 2879
Depth (cm)
−100
−50
0
50
100
150
200
250
300
350
400
450
7190
7191
7192
7193
16000
14000
12000
10000
8000
6000
4000
2000
0
Age (cal years BP)

Twin Lakes; Dataset ID 2880

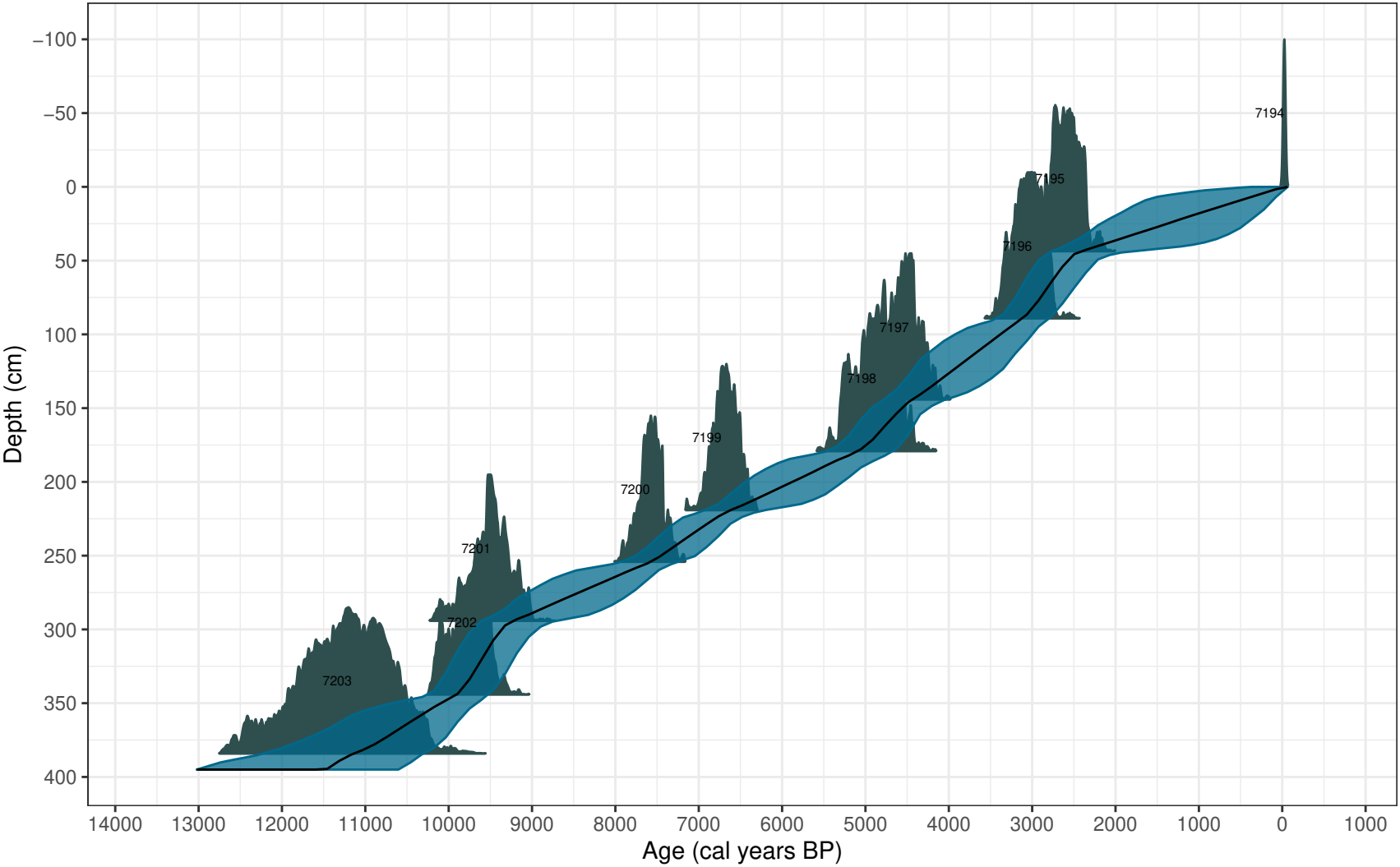

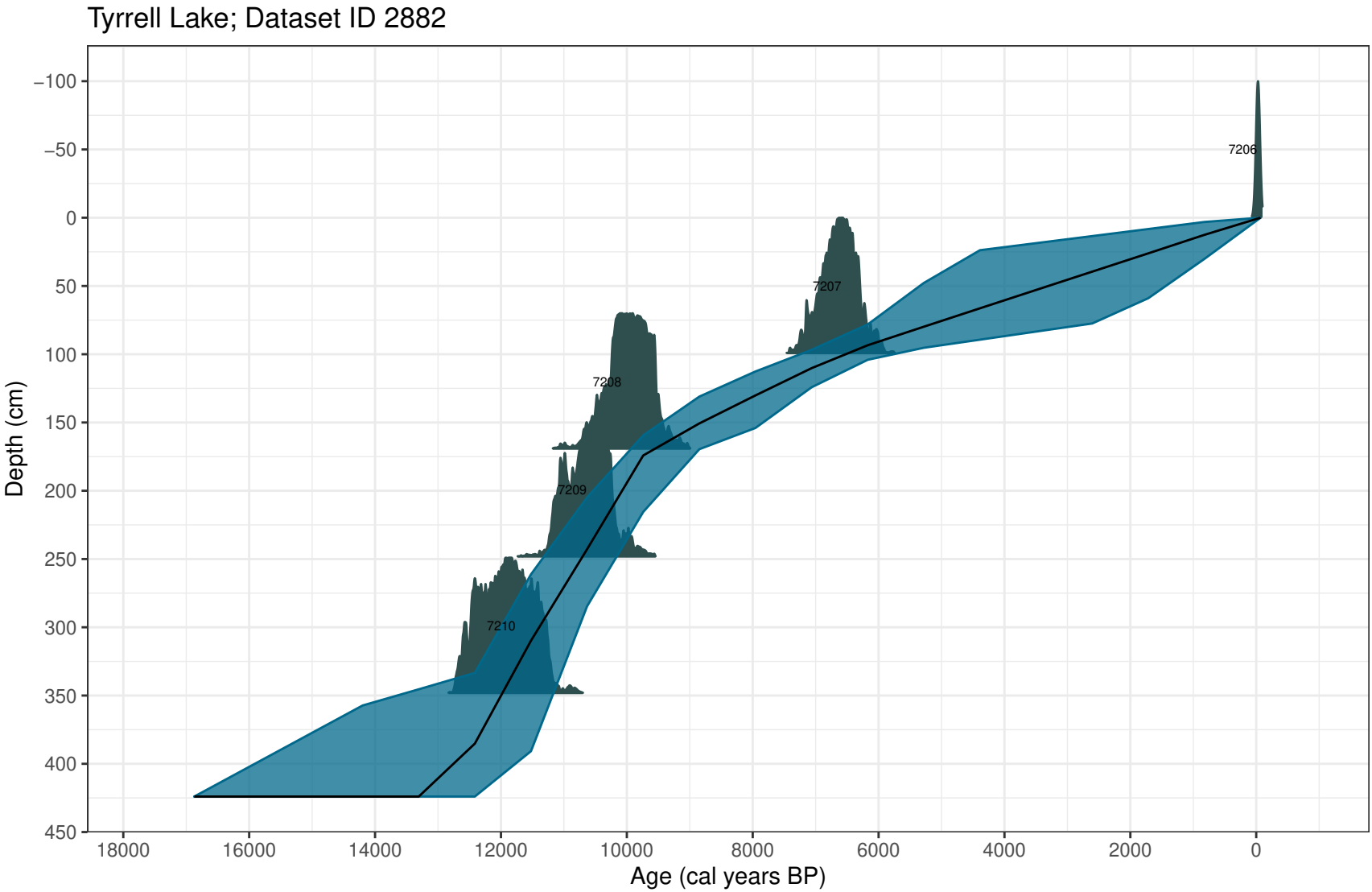
Tyrrell Lake; Dataset ID 2882
Depth (cm)
−100
−50
0
50
100
150
200
250
300
350
400
450
18000
16000
14000
12000
10000
8000
6000
4000
2000
0
Age (cal years BP)
7206
7207
7208
7209
7210

Unknown Pond; Dataset ID 2886

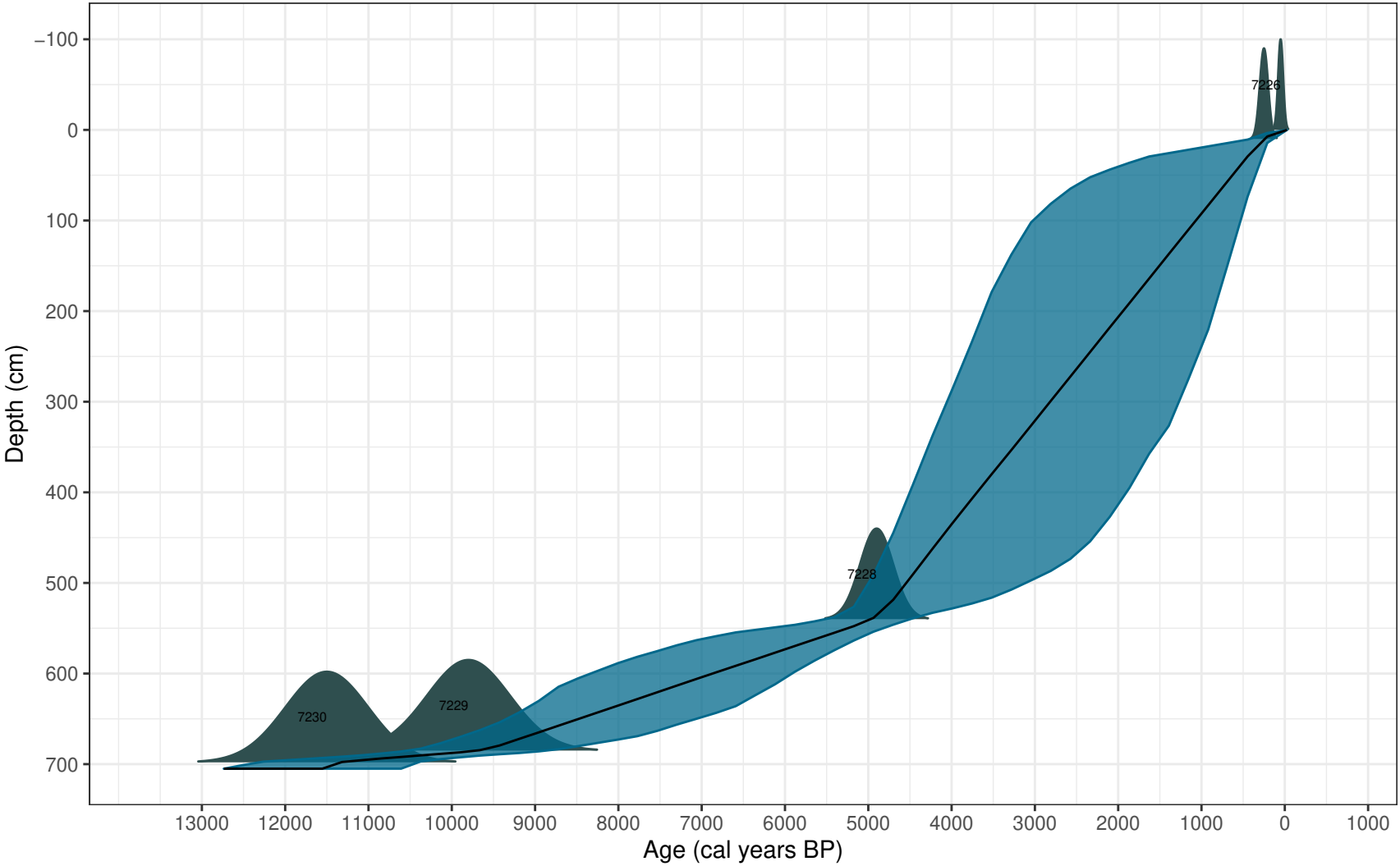

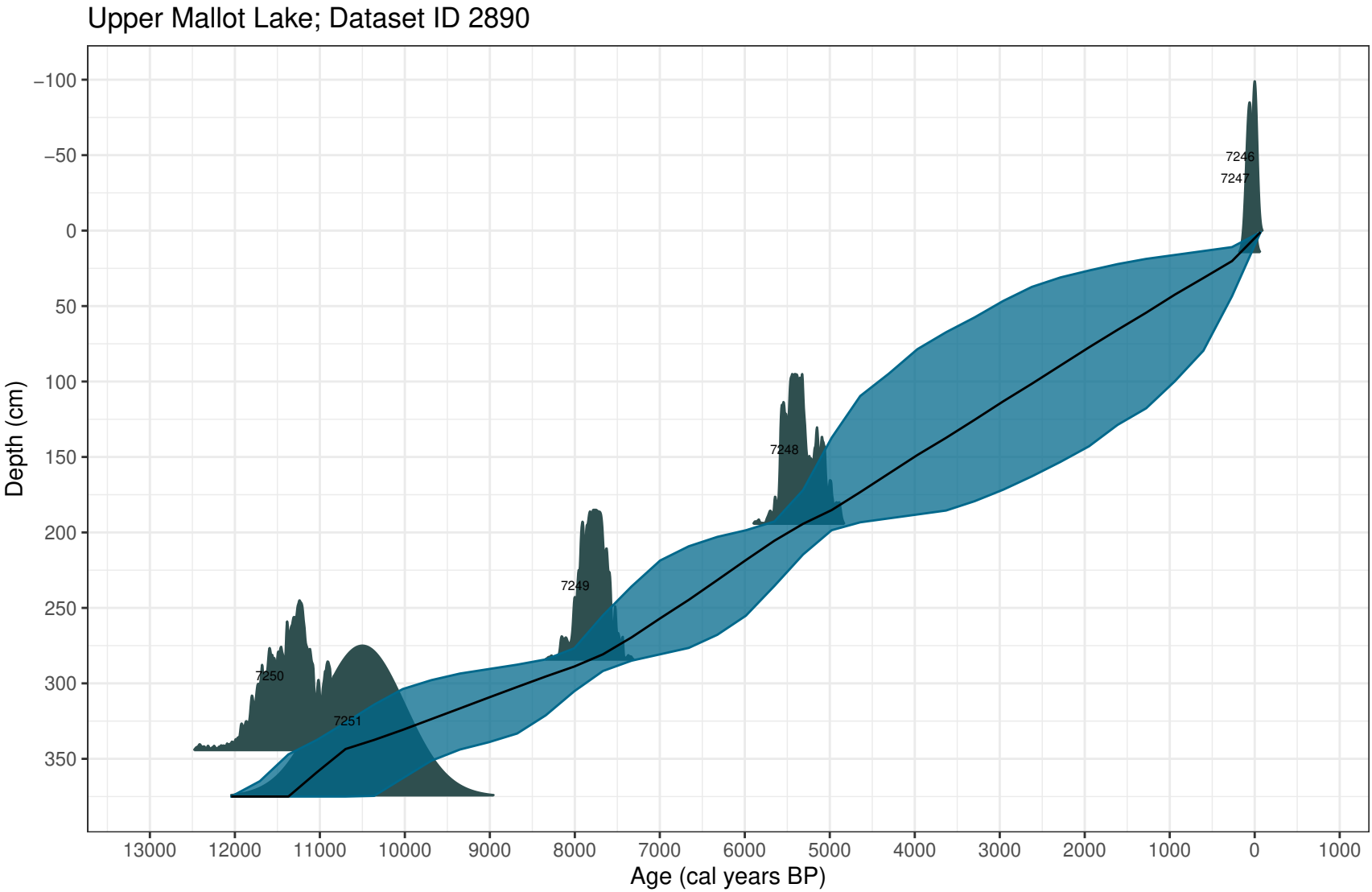
Upper Mallot Lake; Dataset ID 2890
Depth (cm)
−100
−50
0
50
100
150
200
250
300
350
Age (cal years BP)
13000
12000
11000
10000
9000
8000
7000
6000
5000
4000
3000
2000
1000
0
1000
7246
7247
7248
7249
7250
7251

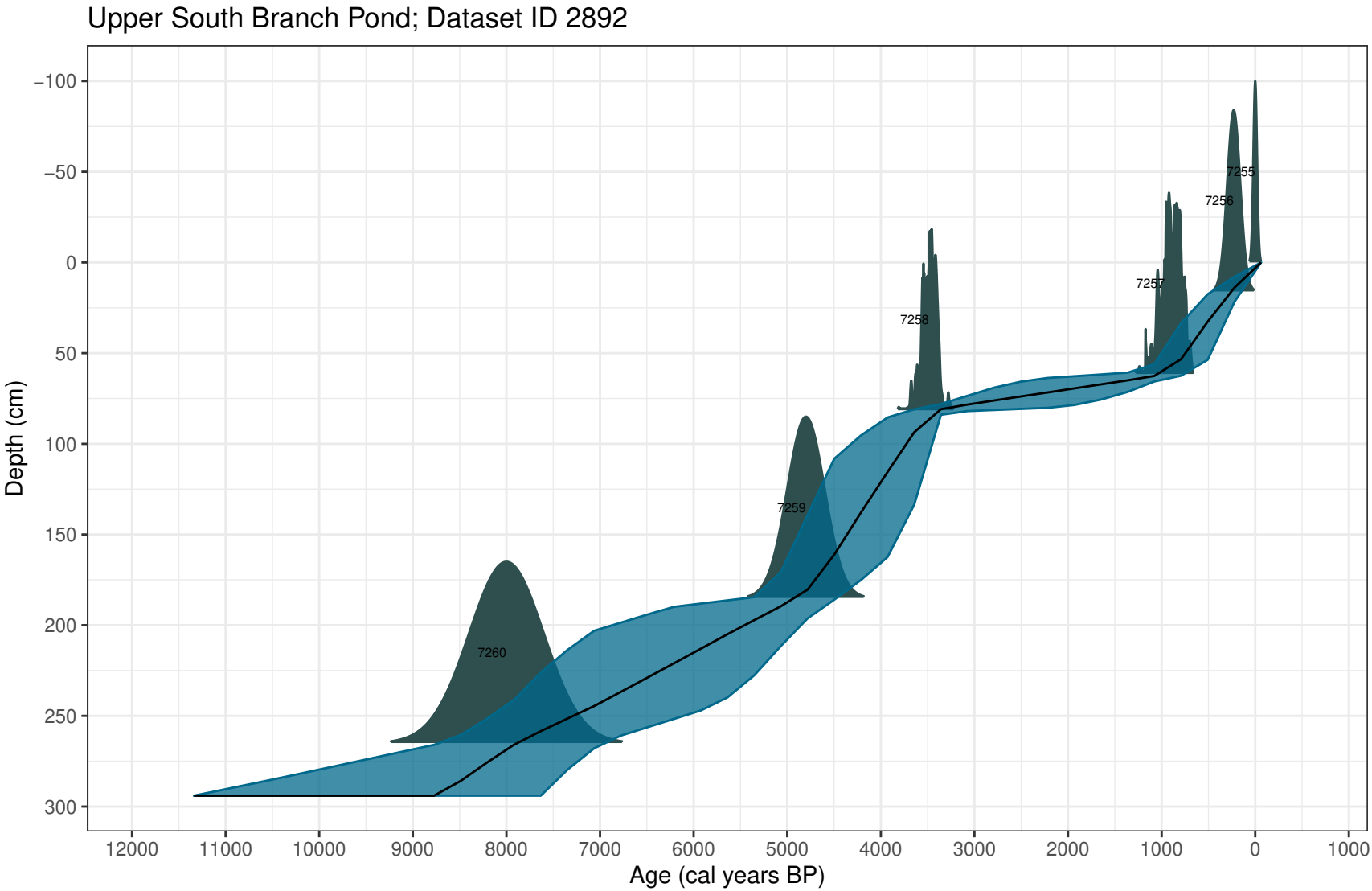
Upper South Branch Pond; Dataset ID 2892
Depth (cm)
−100
−50
0
50
100
150
200
250
300
Age (cal years BP)
12000
11000
10000
9000
8000
7000
6000
5000
4000
3000
2000
1000
0
1000
7260
7259
7258
7257
7256
7255

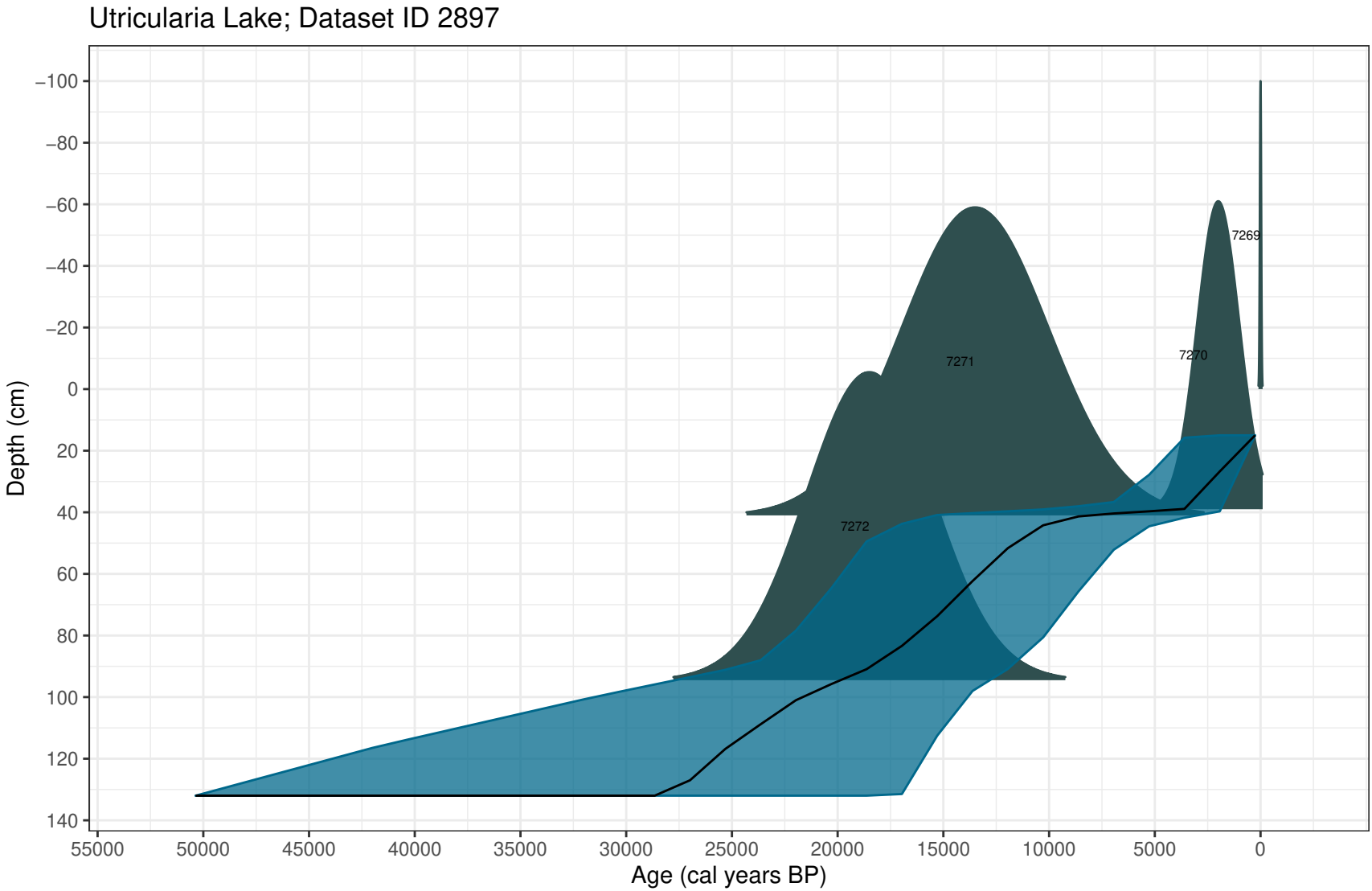
Utricularia Lake; Dataset ID 2897
Depth (cm)
−100
−80
−60
−40
−20
0
20
40
60
80
100
120
140
55000
50000
45000
40000
35000
30000
25000
20000
15000
10000
5000
0
Age (cal years BP)
7269
7270
7271
7272

Van Nostrand Lake; Dataset ID 2903

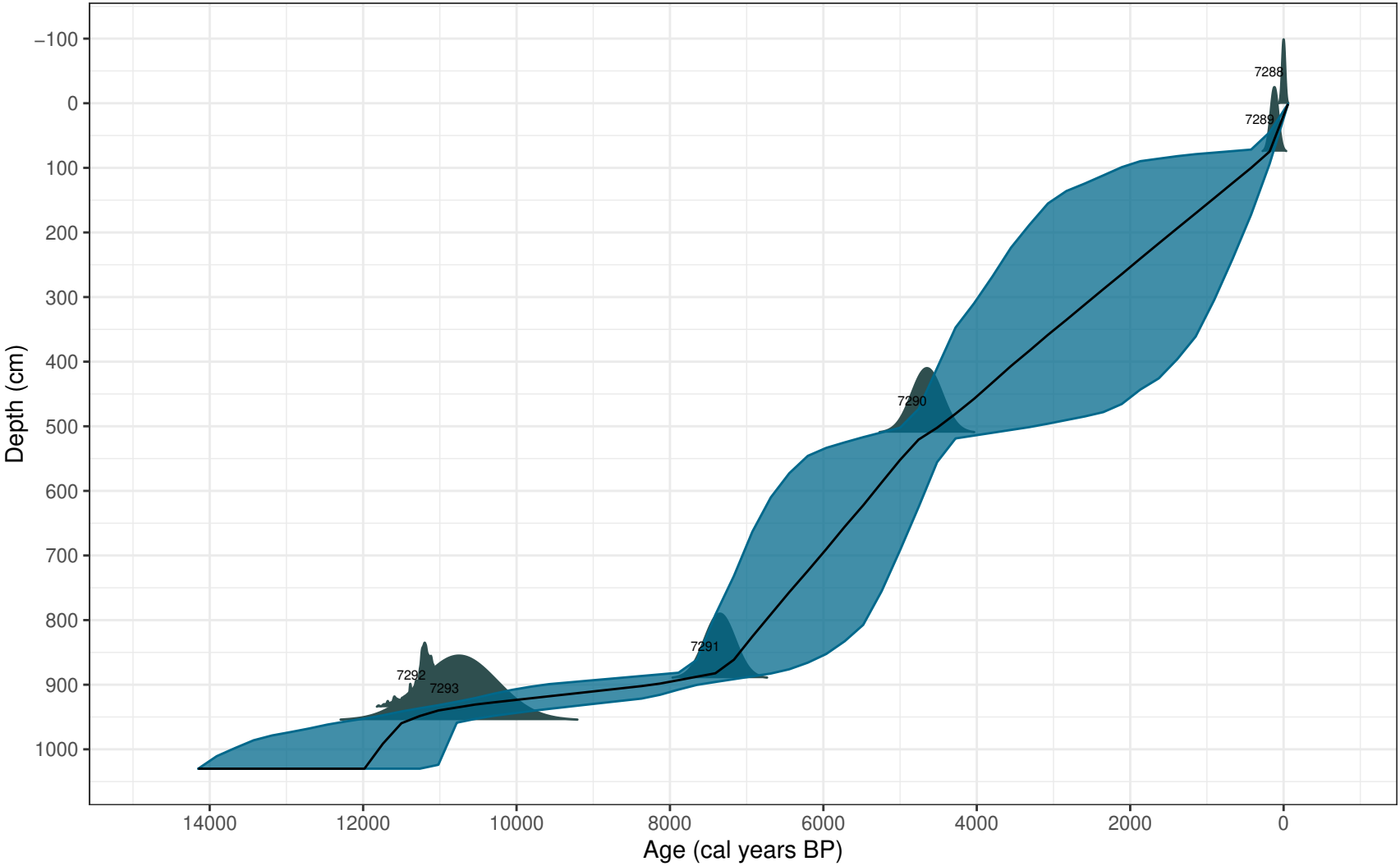

Baie du Diana; Dataset ID 2912

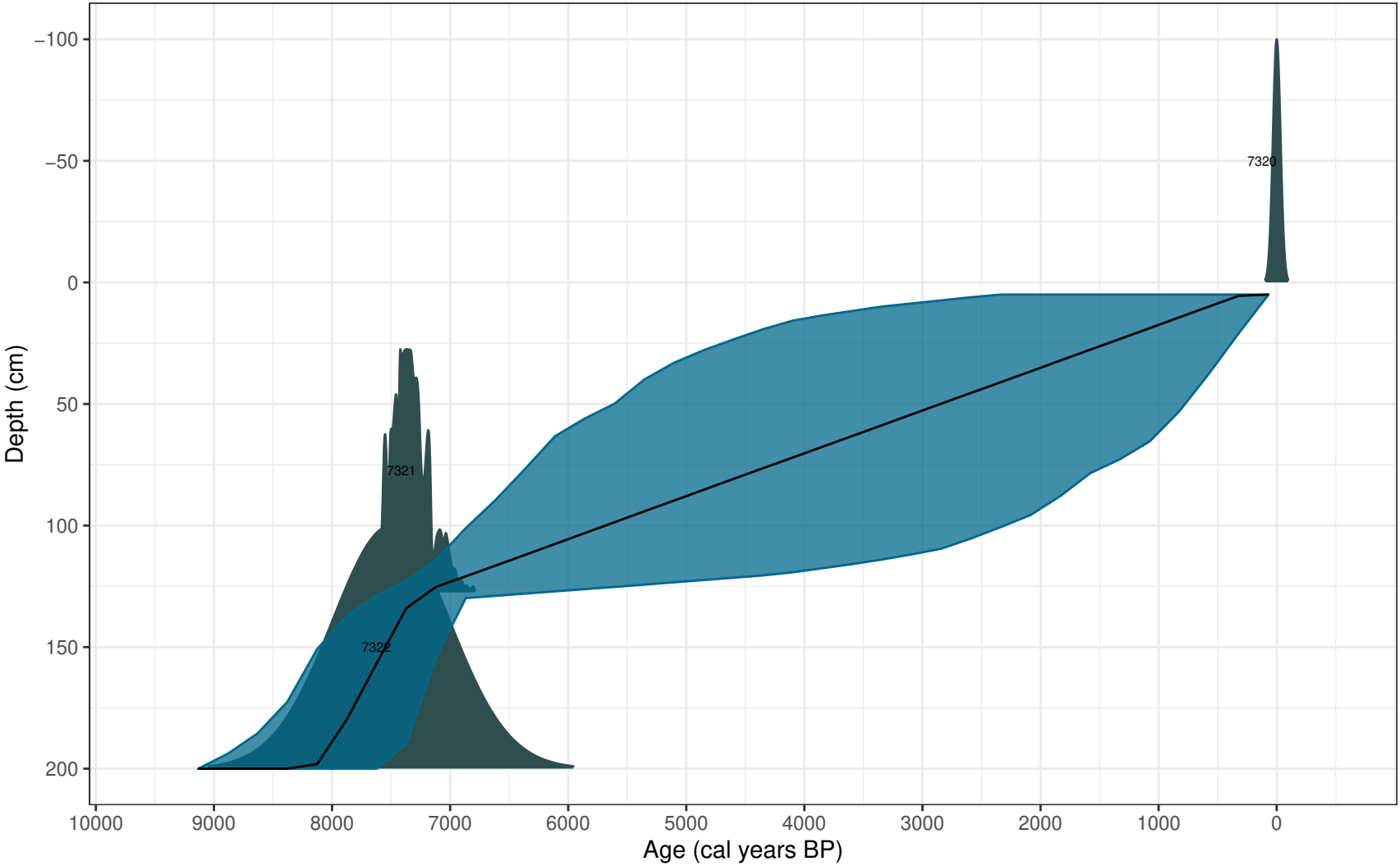

Volo Bog; Dataset ID 2919

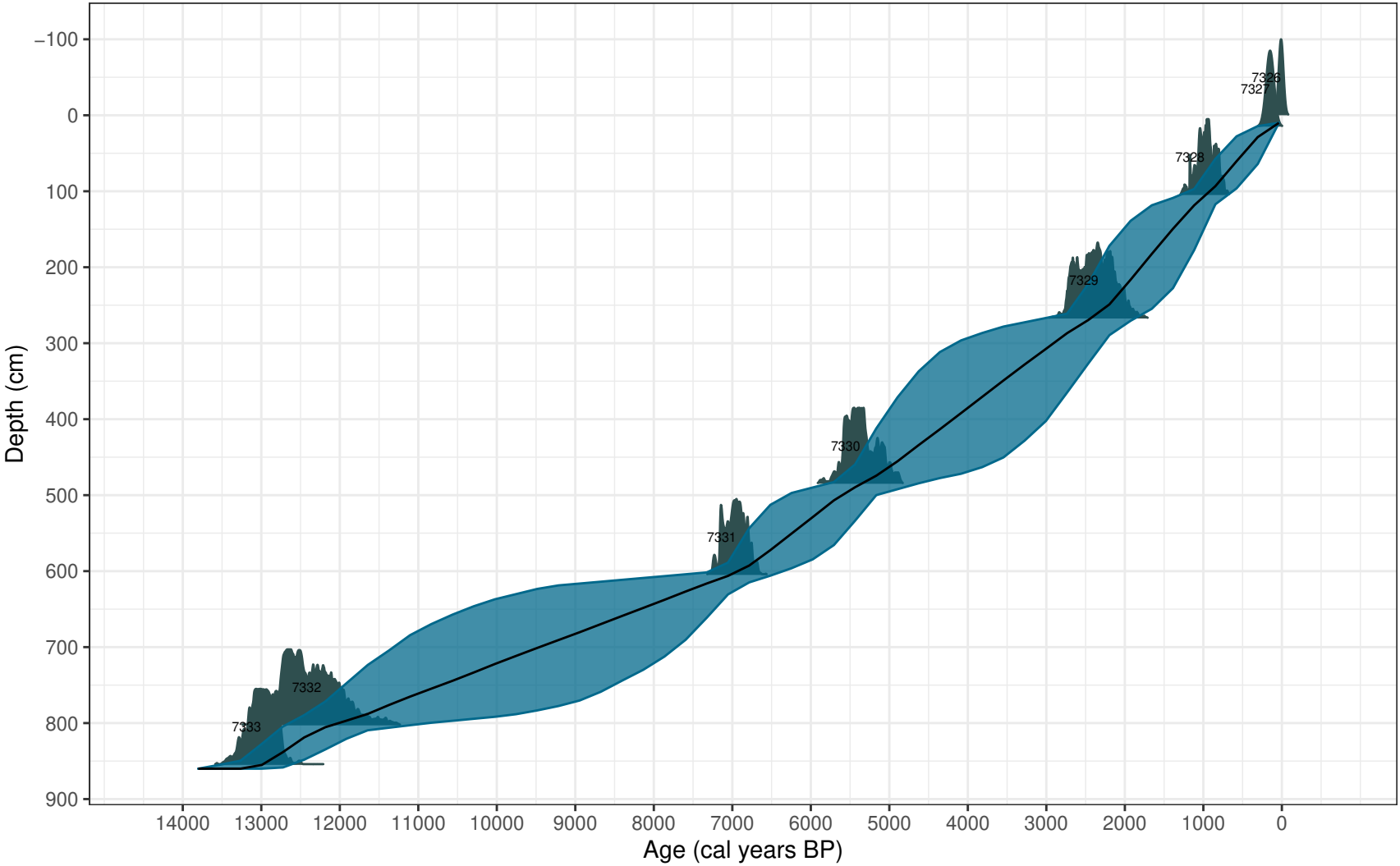

Walker Lake; Dataset ID 2922

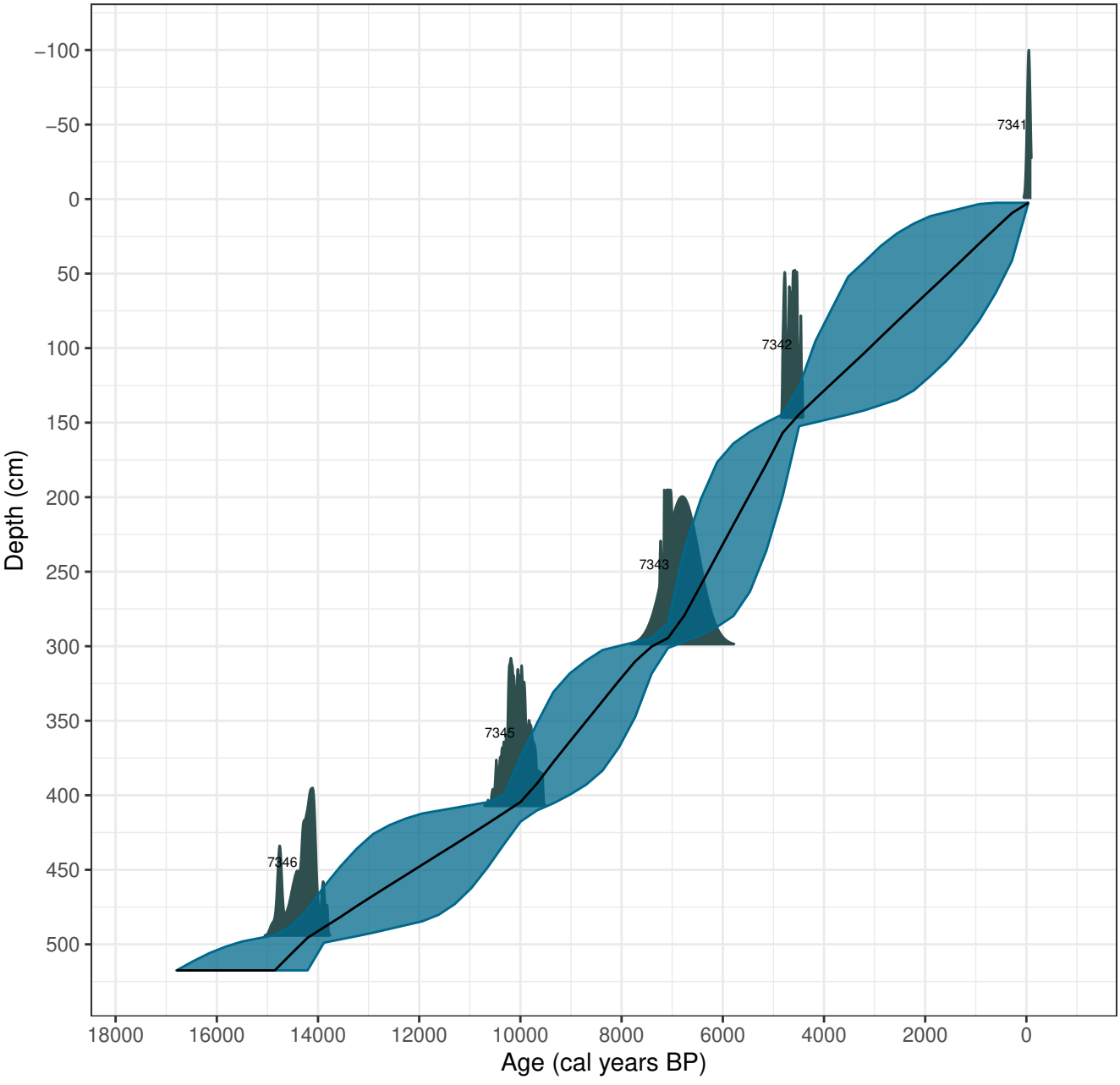

Watchtower Basin; Dataset ID 2925

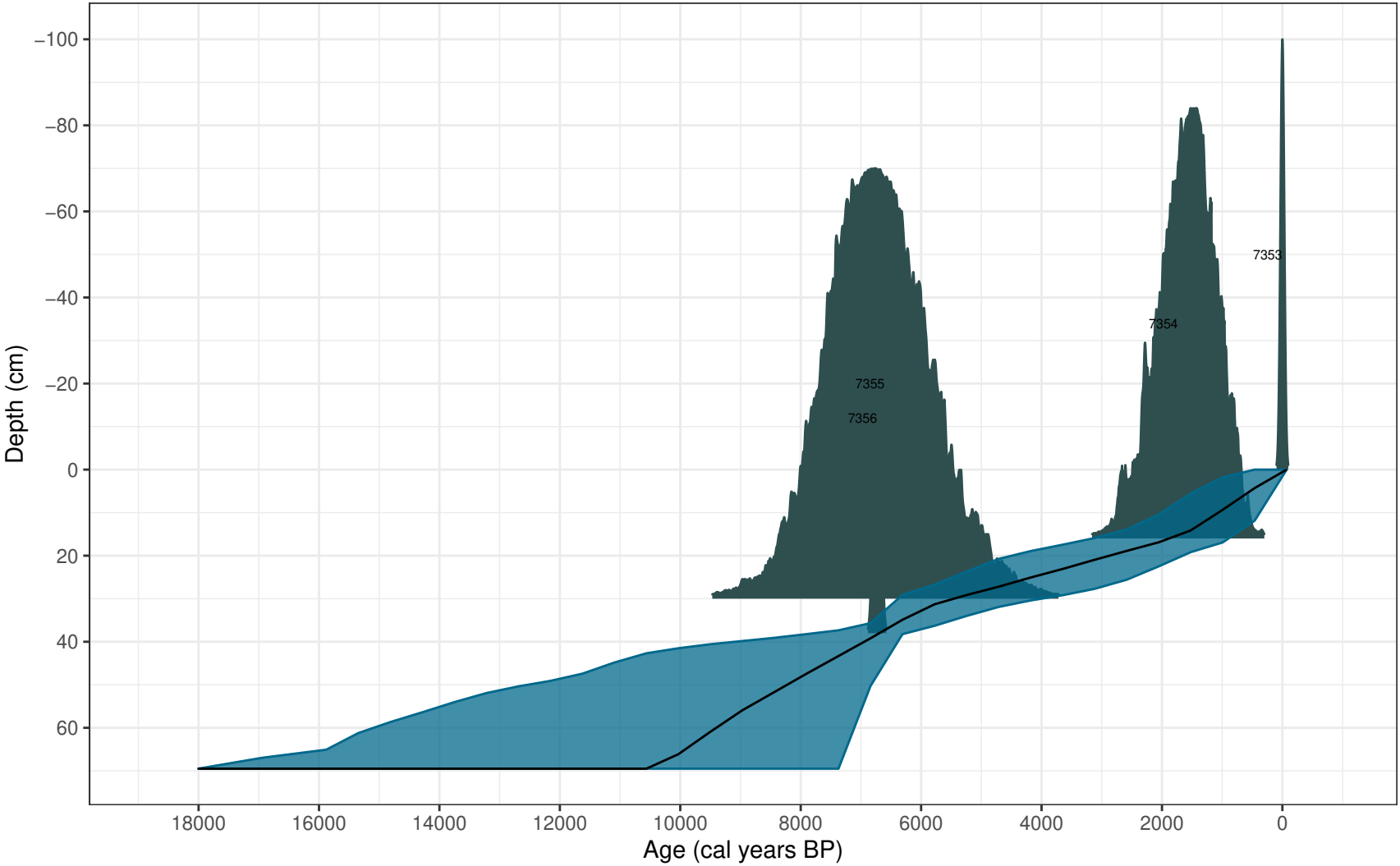

Waubashene Nippissing Transgression Site; Dataset ID 2926

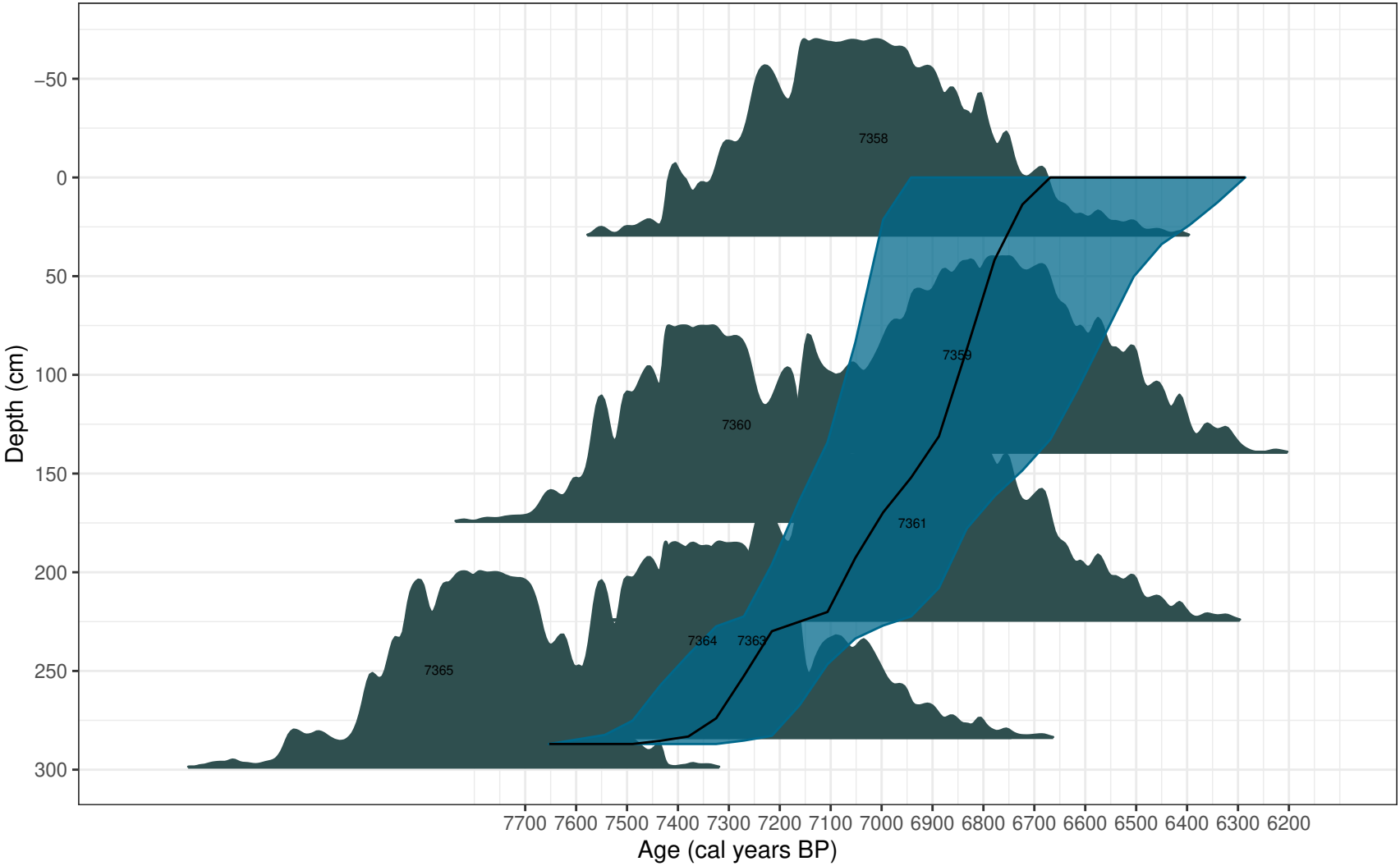

Water Conservation Area 2A, Site 2 (Site F1); Dataset ID 2943

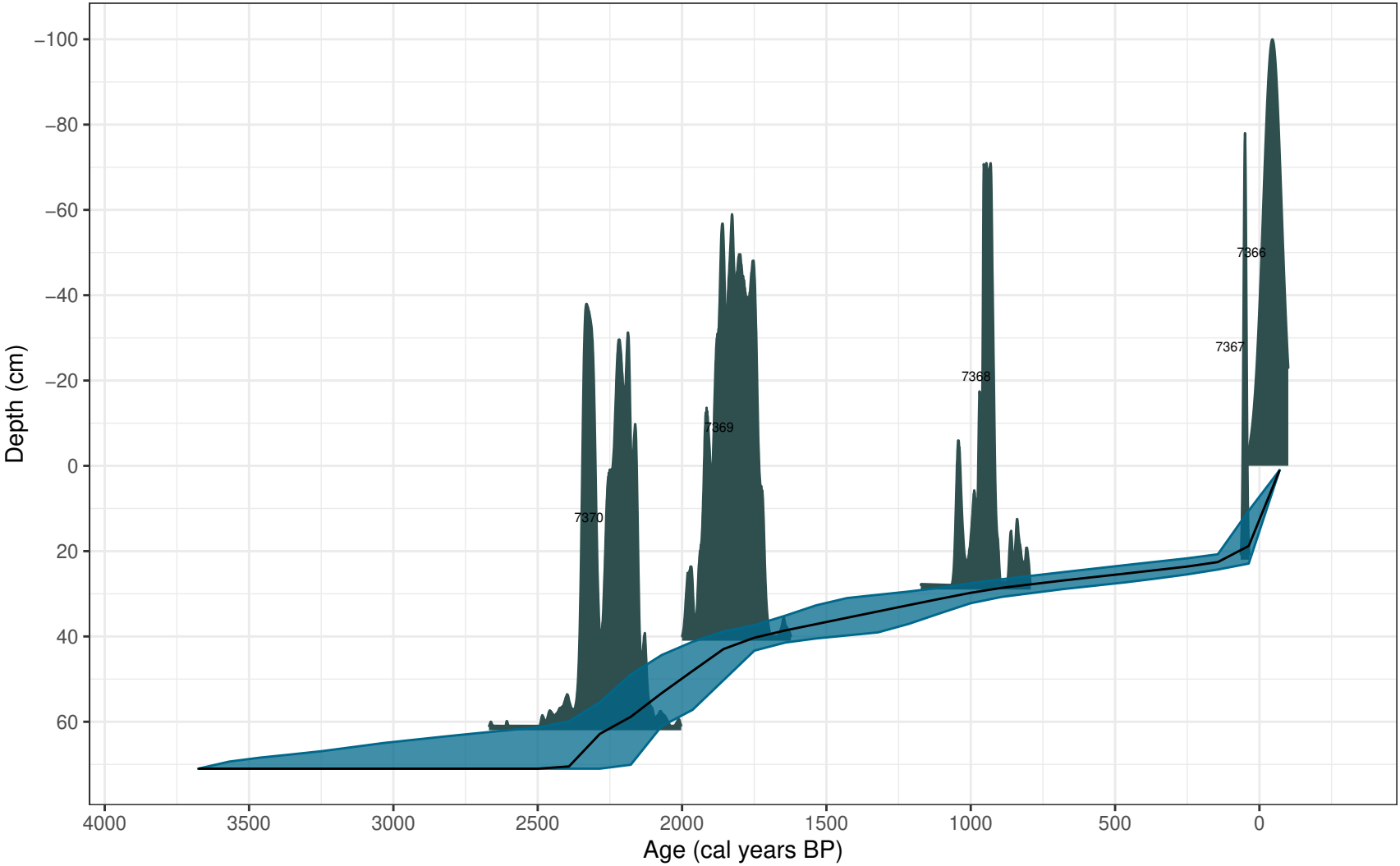

Wells Mastodon Site; Dataset ID 2947

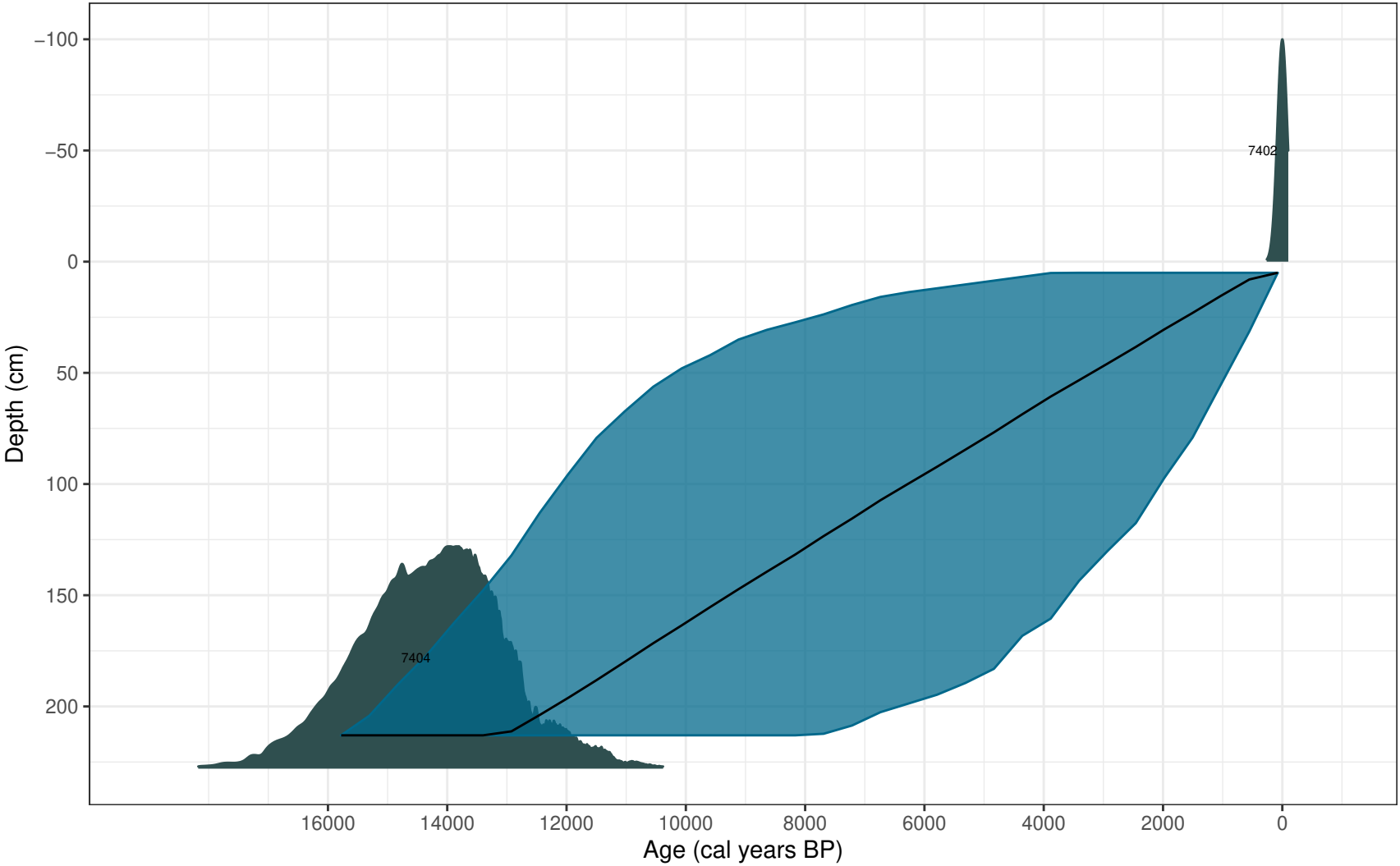

Wentzel's Pond; Dataset ID 2948

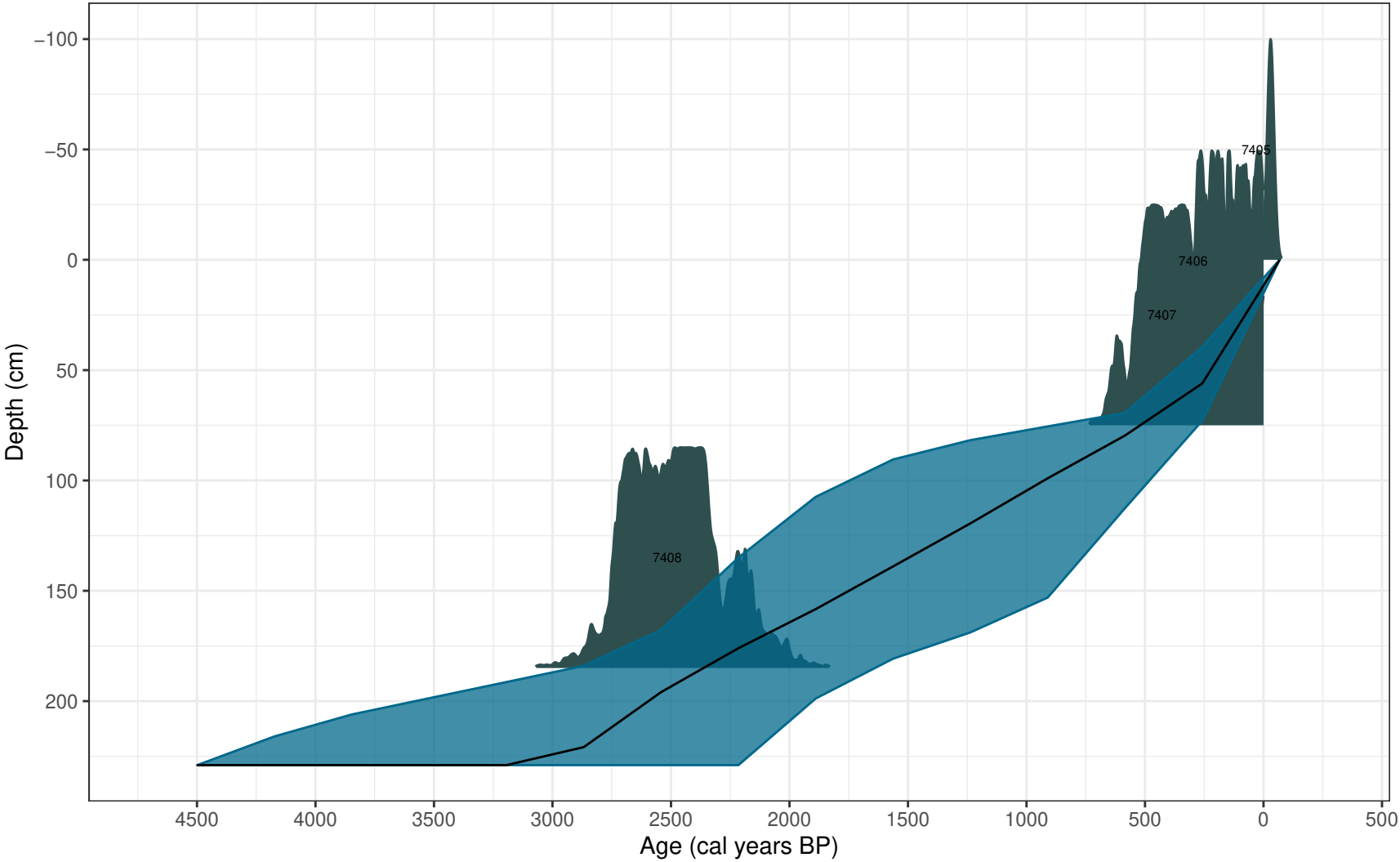

Weslemkoon Lake; Dataset ID 2949

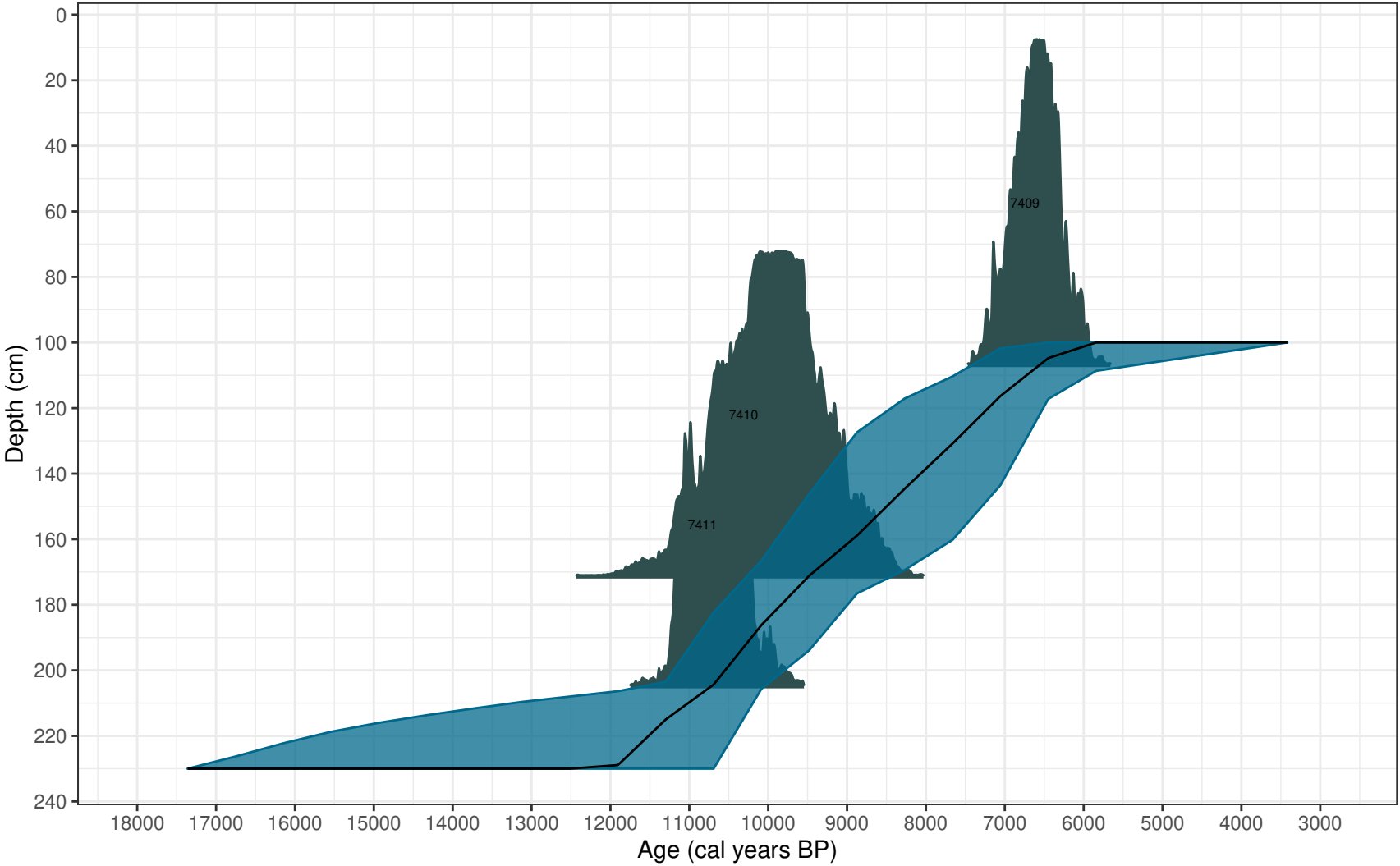

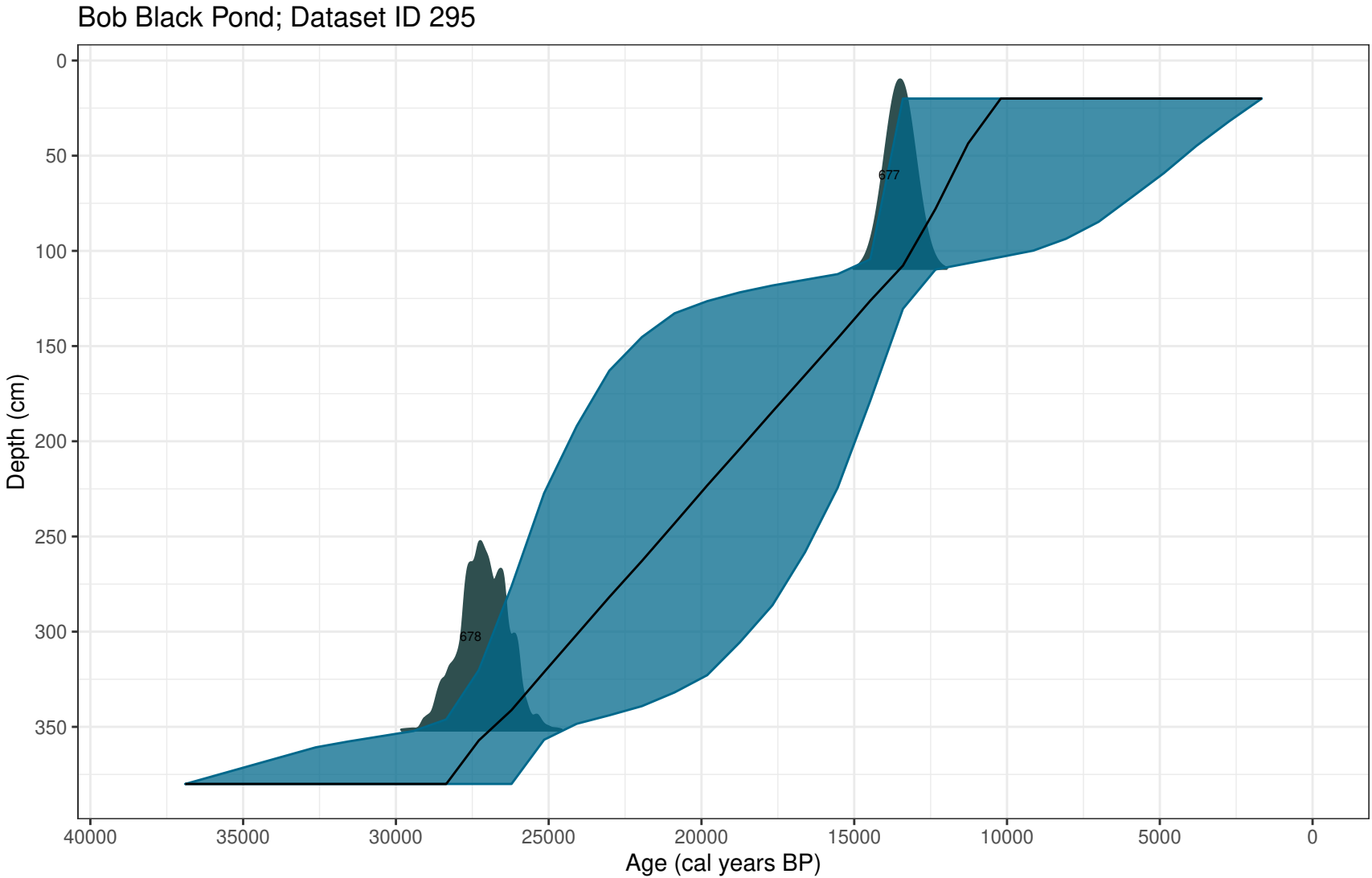
Bob Black Pond; Dataset ID 295
Depth (cm)
0
50
100
150
200
250
300
350
677
678
40000
35000
30000
25000
20000
15000
10000
5000
0
Age (cal years BP)

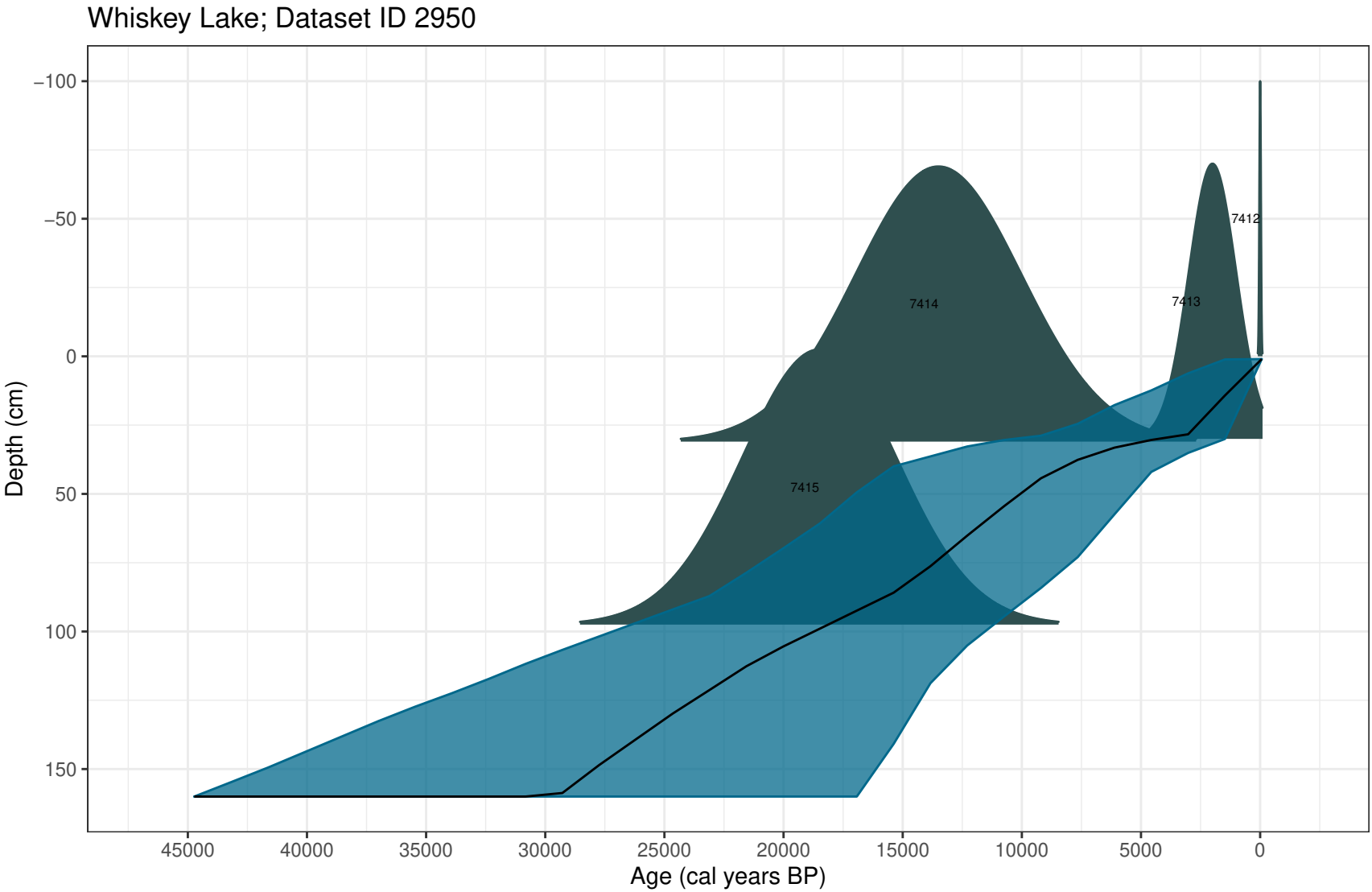
Whiskey Lake; Dataset ID 2950
Depth (cm)
−100
−50
0
50
100
150
7414
7413
7412
7415
45000
40000
35000
30000
25000
20000
15000
10000
5000
0
Age (cal years BP)

Whitney's Gulch; Dataset ID 2951

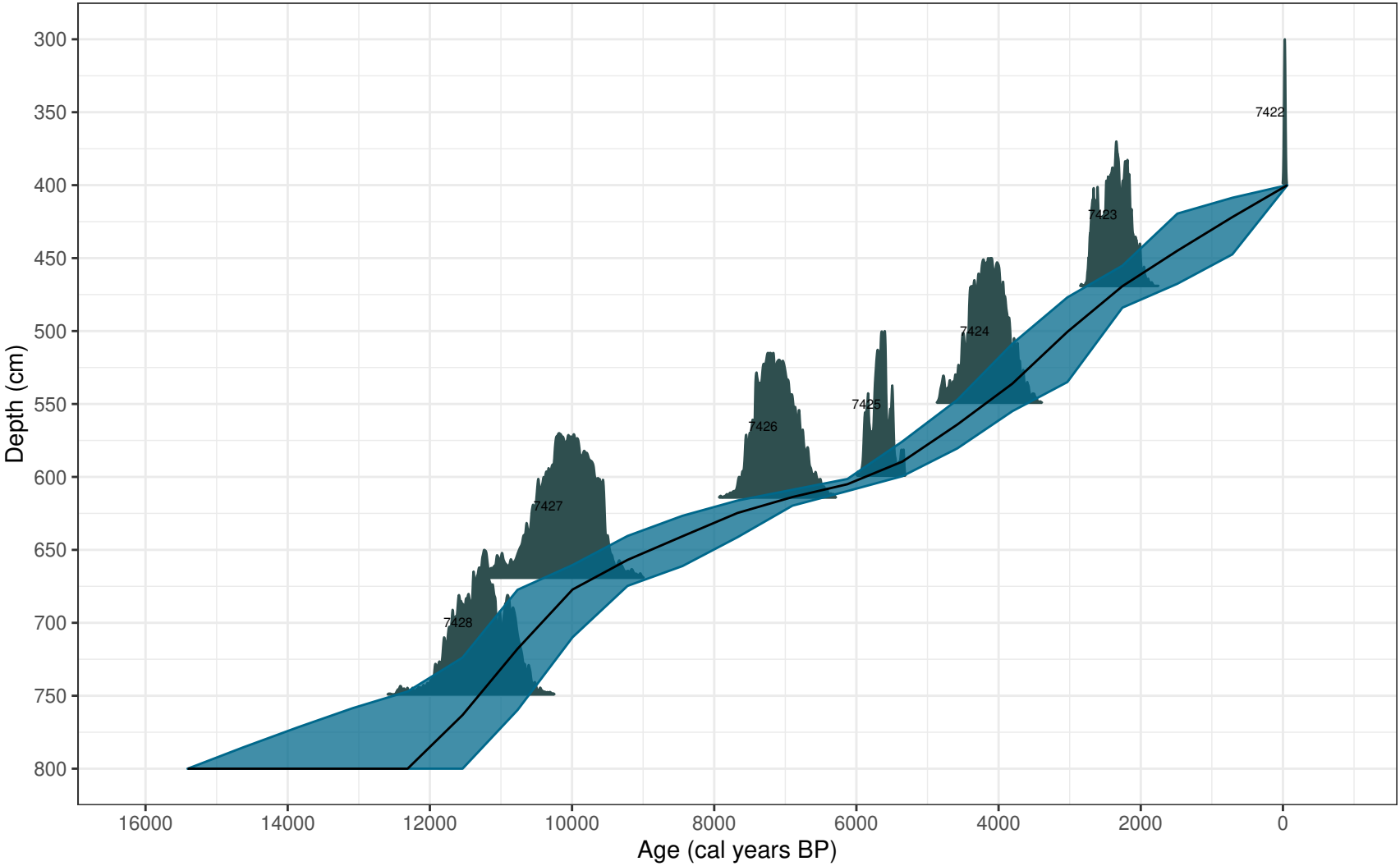

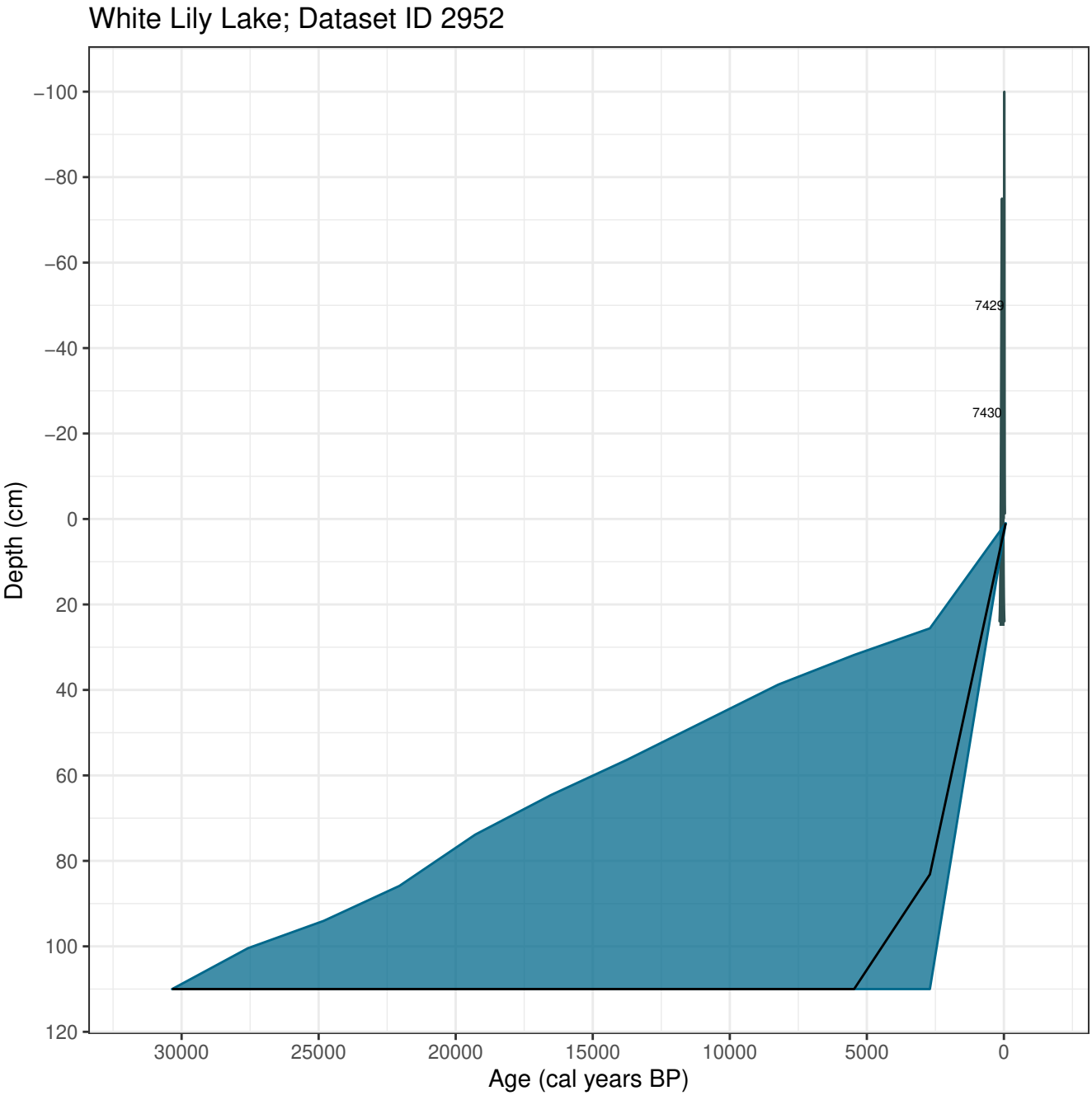
White Lily Lake; Dataset ID 2952
Depth (cm)
−100
−80
−60
−40
−20
0
20
40
60
80
100
120
7429
7430
30000
25000
20000
15000
10000
5000
0
Age (cal years BP)

Whyac Lake; Dataset ID 2953

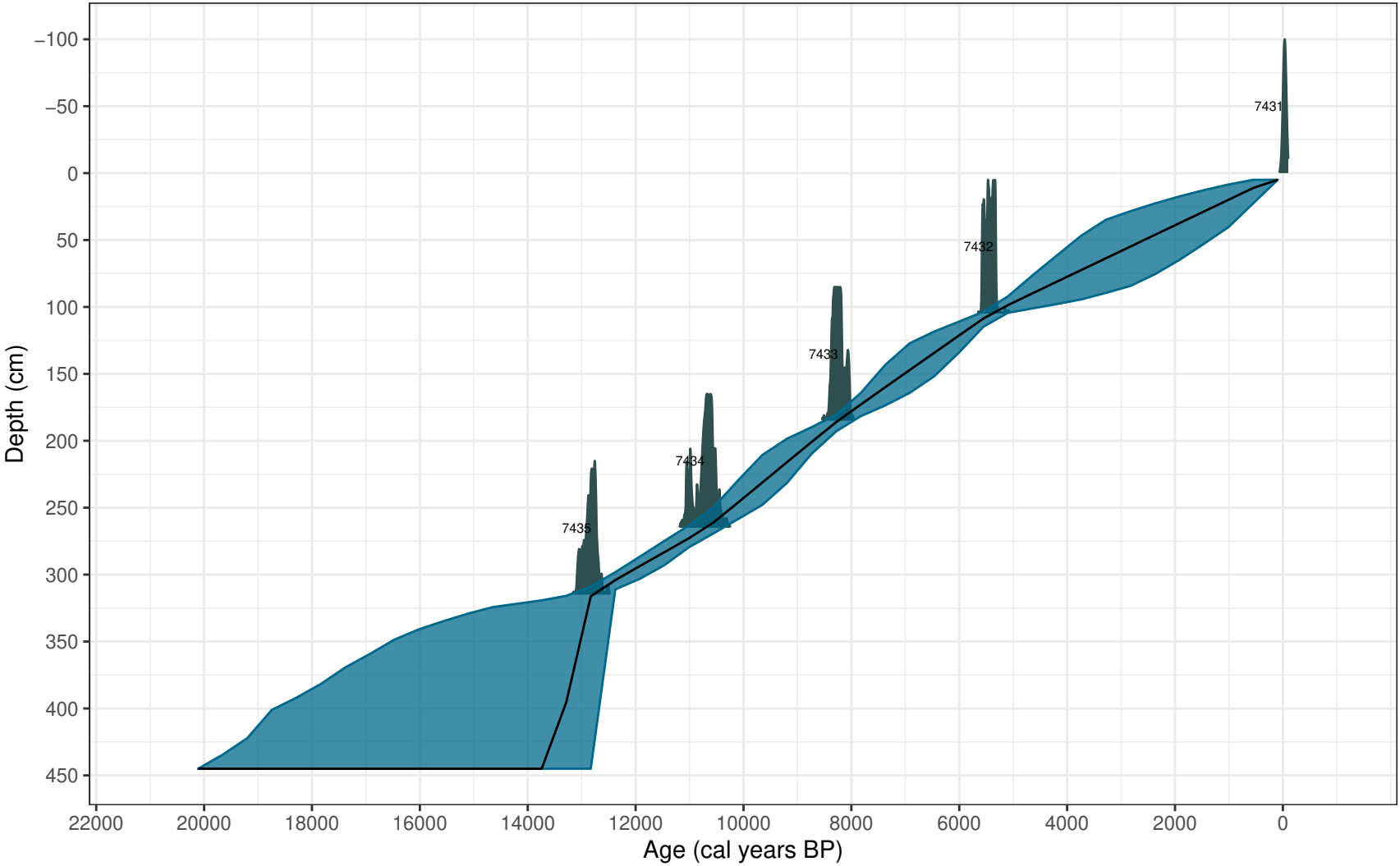

Wien Lake; Dataset ID 2954

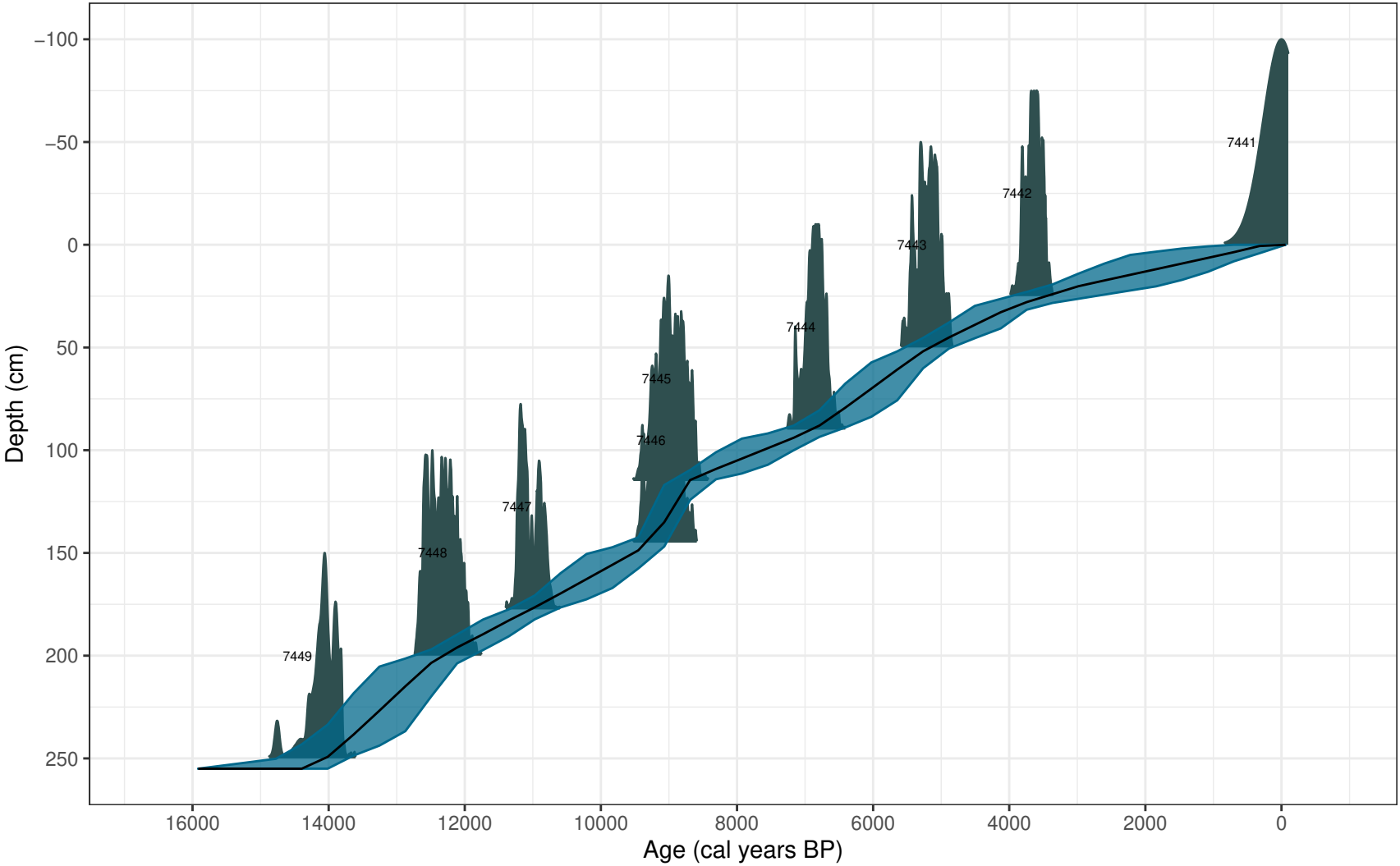

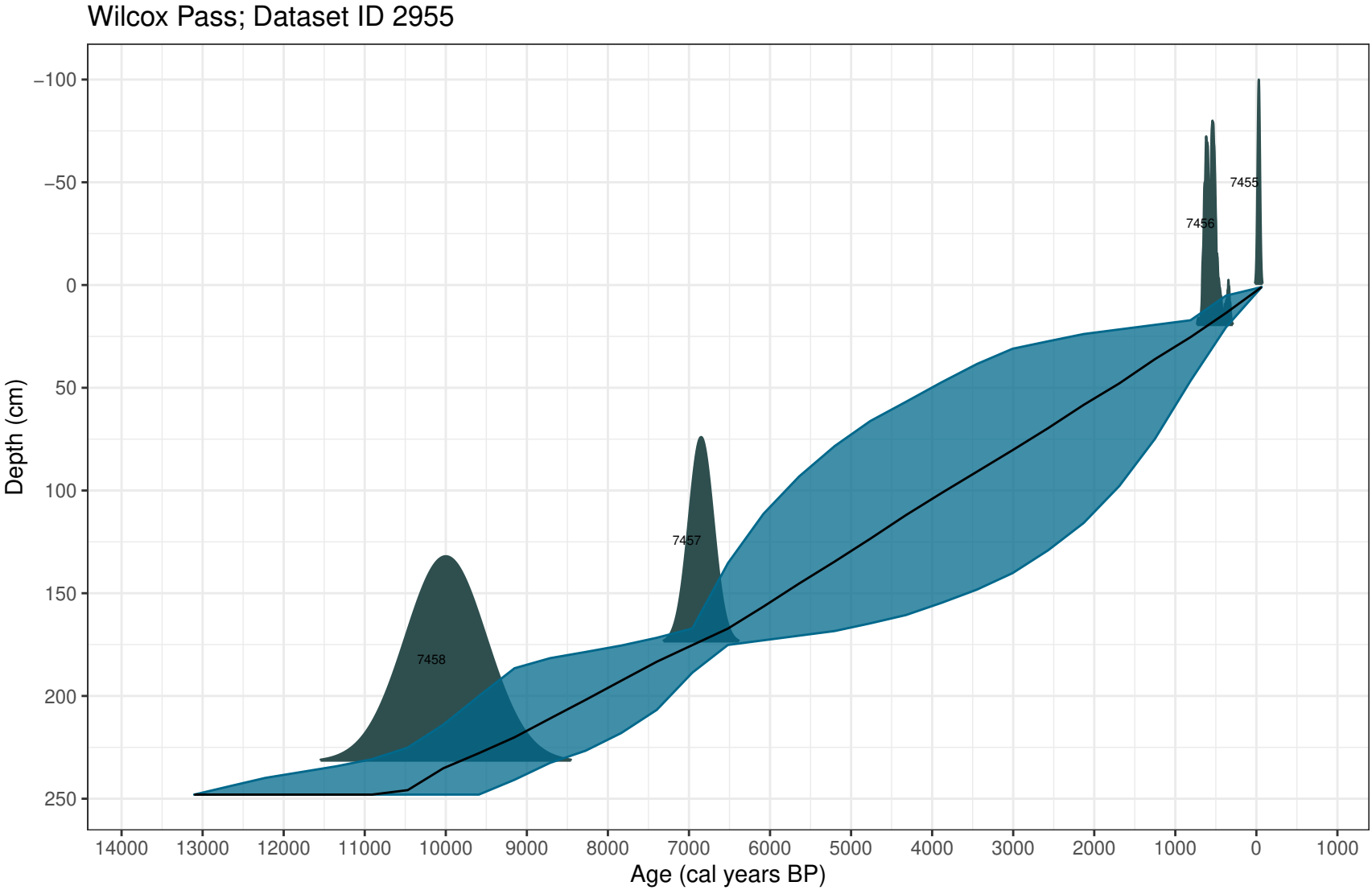
Wilcox Pass; Dataset ID 2955
Depth (cm)
−100
−50
0
50
100
150
200
250
7455
7456
7457
7458
14000
13000
12000
11000
10000
9000
8000
7000
6000
5000
4000
3000
2000
1000
0
1000
Age (cal years BP)

Willow River Pond; Dataset ID 2956

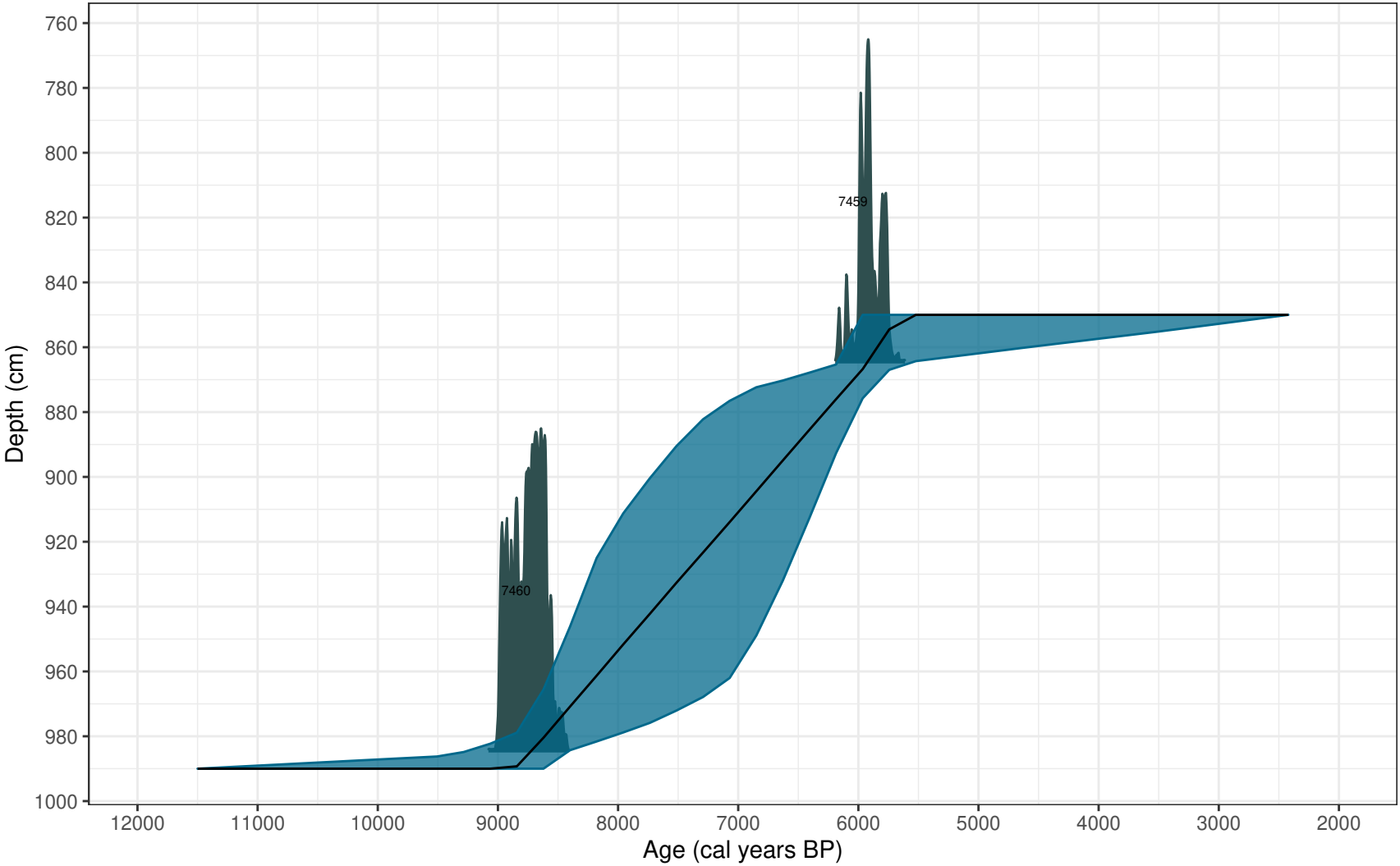

Winter Gulf Site; Dataset ID 2960

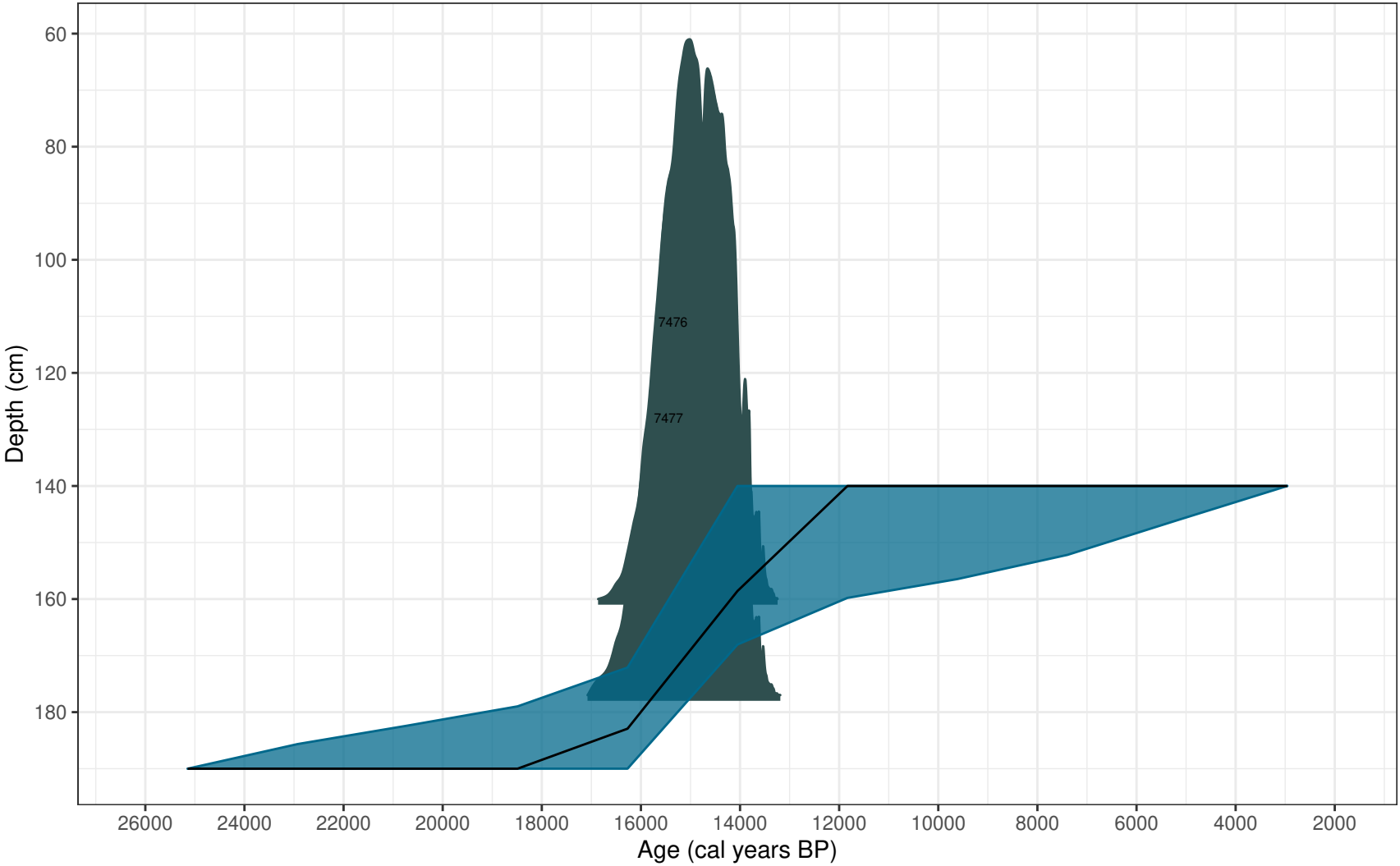

Wintergreen Lake; Dataset ID 2961

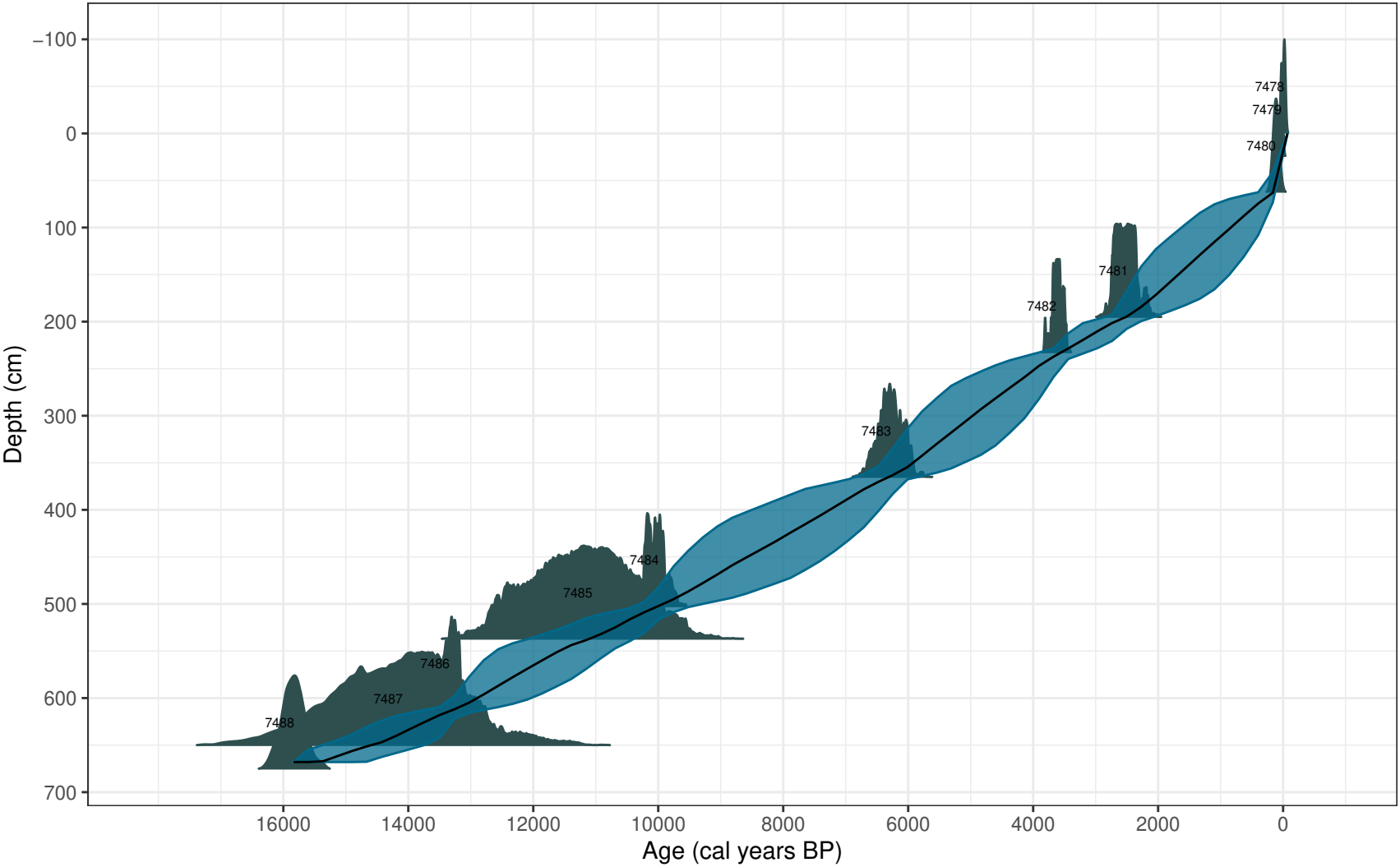

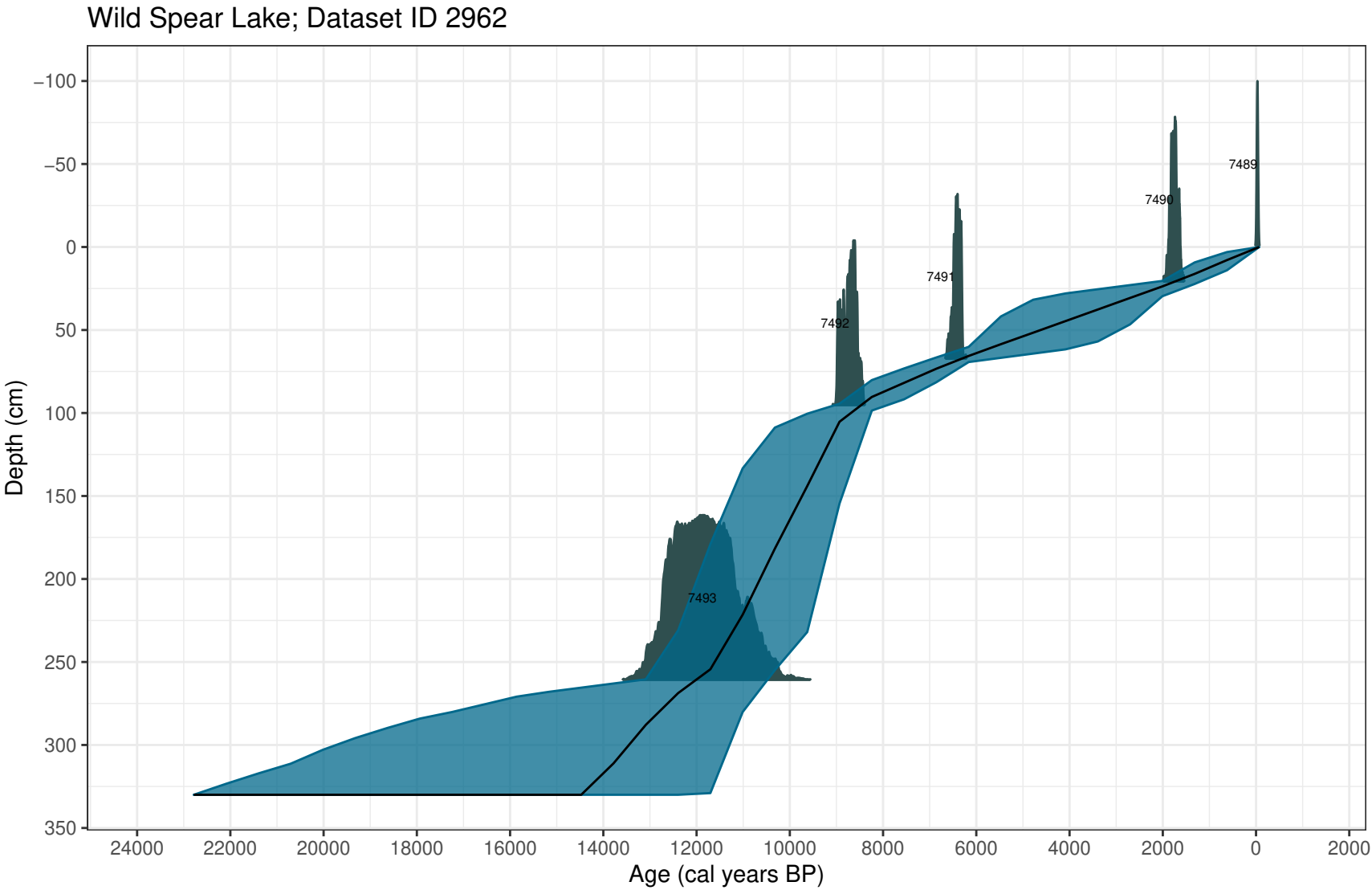
Wild Spear Lake; Dataset ID 2962
Depth (cm)
Age (cal years BP)
7489
7490
7491
7492
7493
−100
−50
0
50
100
150
200
250
300
350
24000
22000
20000
18000
16000
14000
12000
10000
8000
6000
4000
2000
0
2000

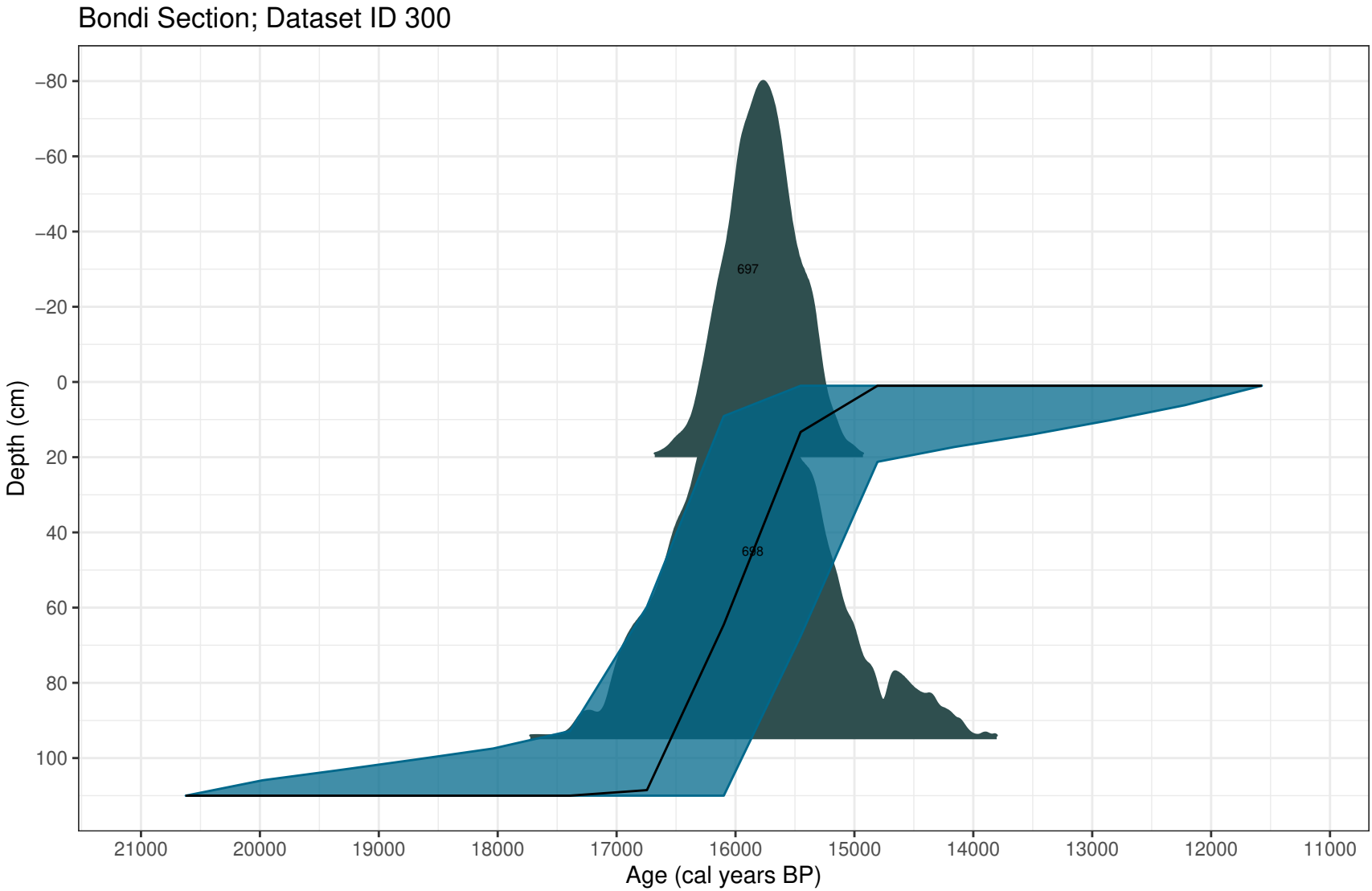
Bondi Section; Dataset ID 300
Depth (cm)
−80
−60
−40
−20
0
20
40
60
80
100
697
698
21000
20000
19000
18000
17000
16000
15000
14000
13000
12000
11000
Age (cal years BP)

Boone Lake; Dataset ID 302

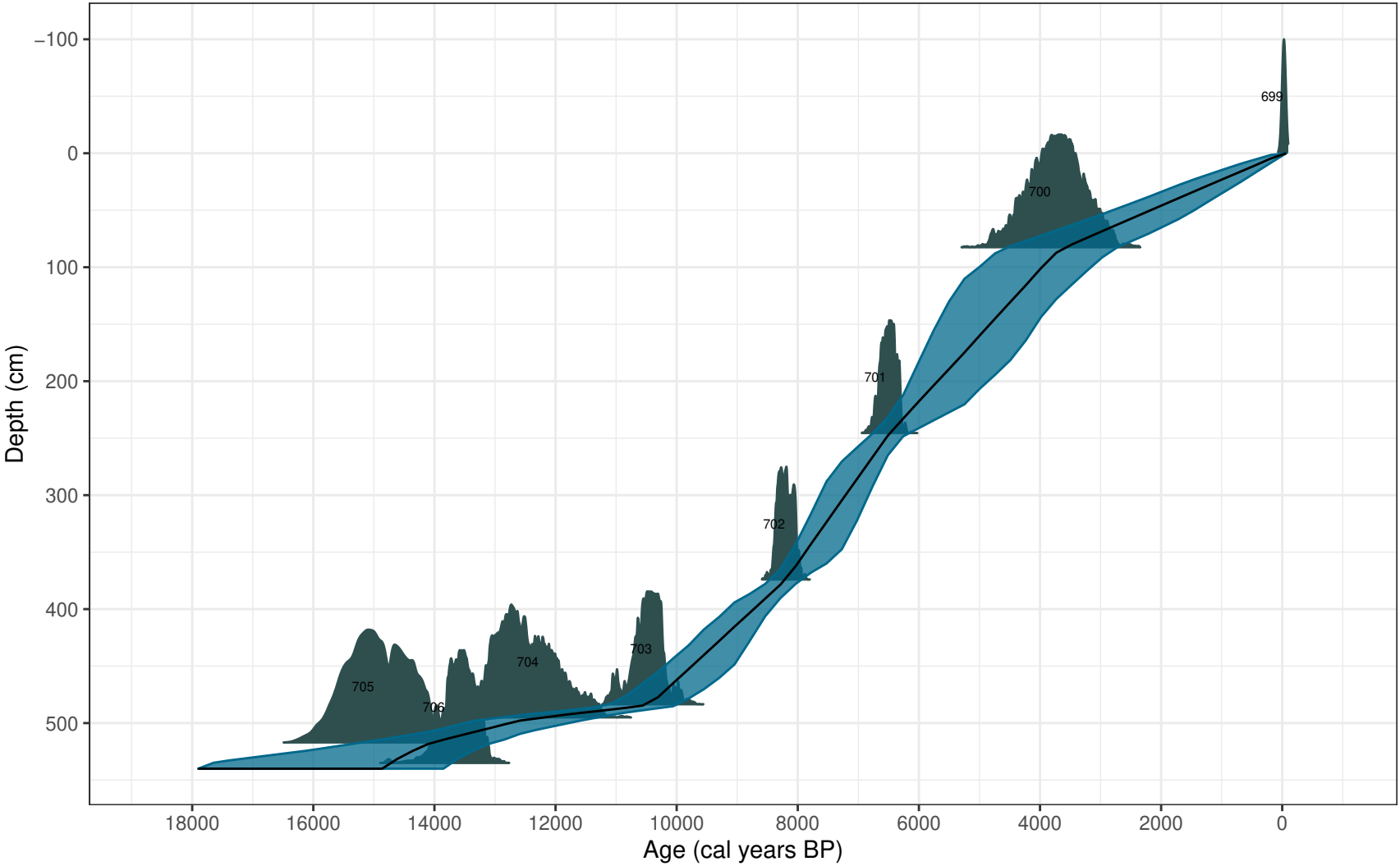

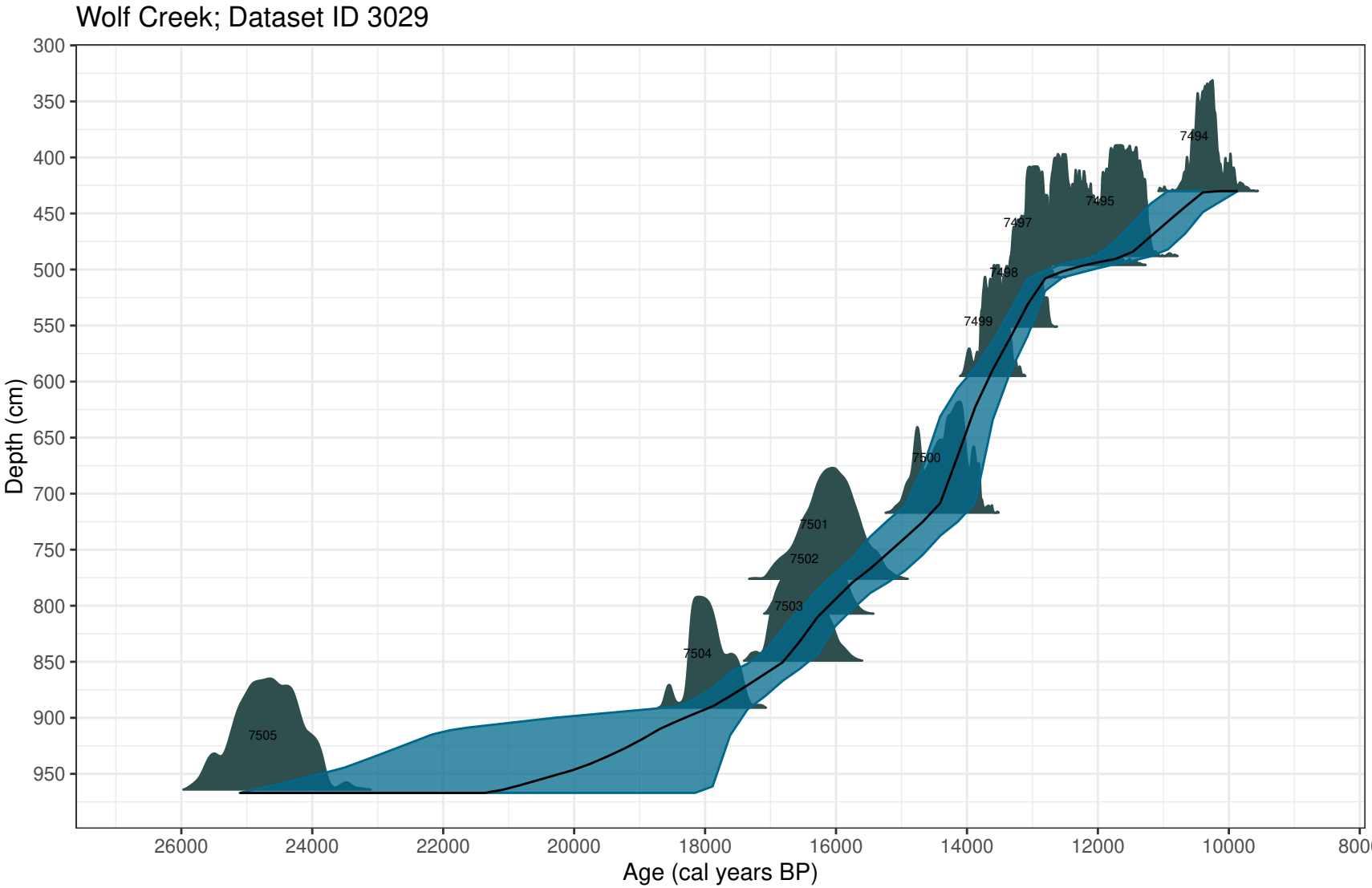
Wolf Creek; Dataset ID 3029
Depth (cm)
300
350
400
450
500
550
600
650
700
750
800
850
900
950
Age (cal years BP)
26000
24000
22000
20000
18000
16000
14000
12000
10000
8000
7494
7495
7497
7498
7499
7500
7501
7502
7503
7504
7505

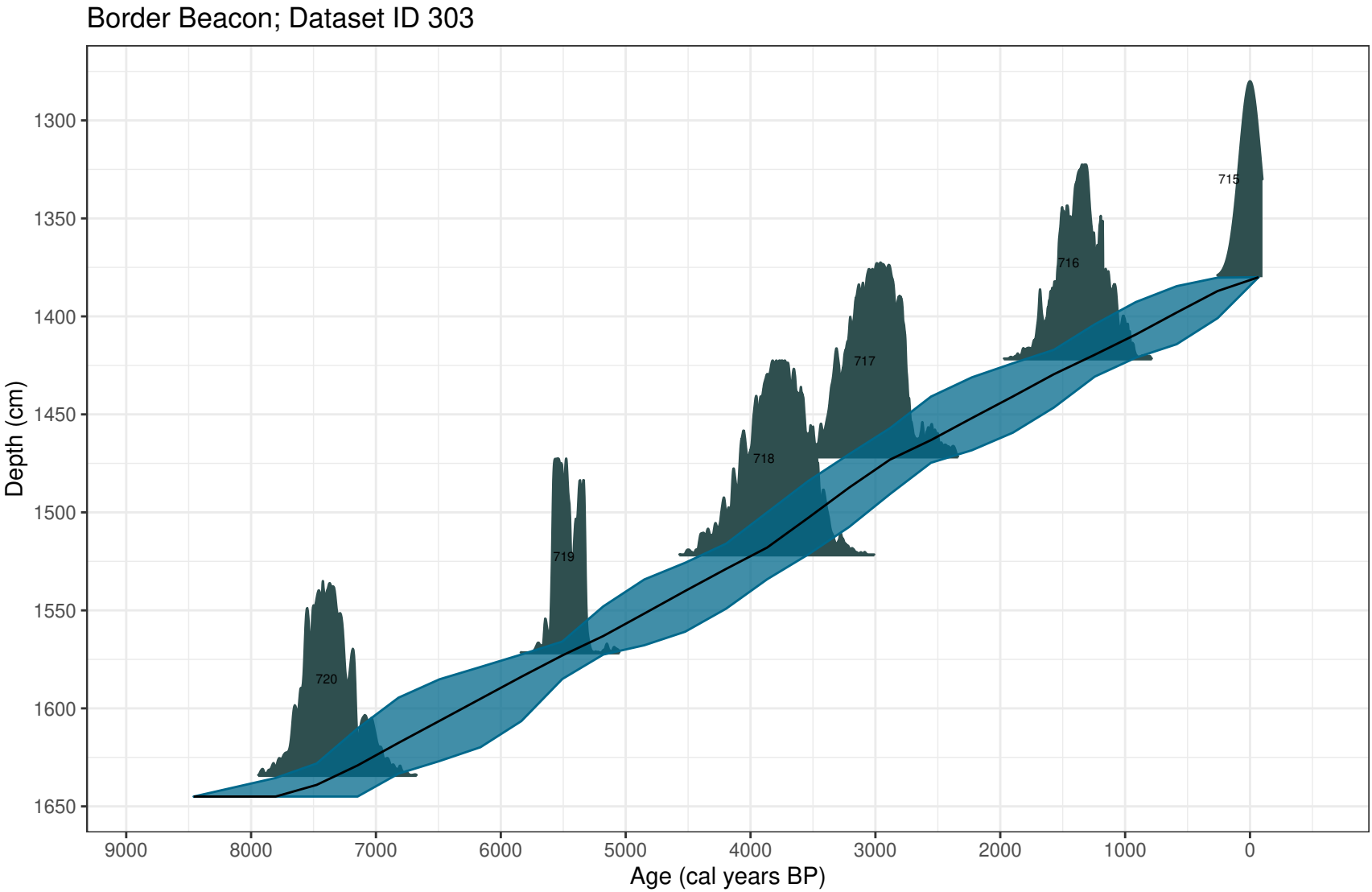
Border Beacon; Dataset ID 303
Depth (cm)
1300
1350
1400
1450
1500
1550
1600
1650
Age (cal years BP)
9000
8000
7000
6000
5000
4000
3000
2000
1000
0
715
716
717
718
719
720

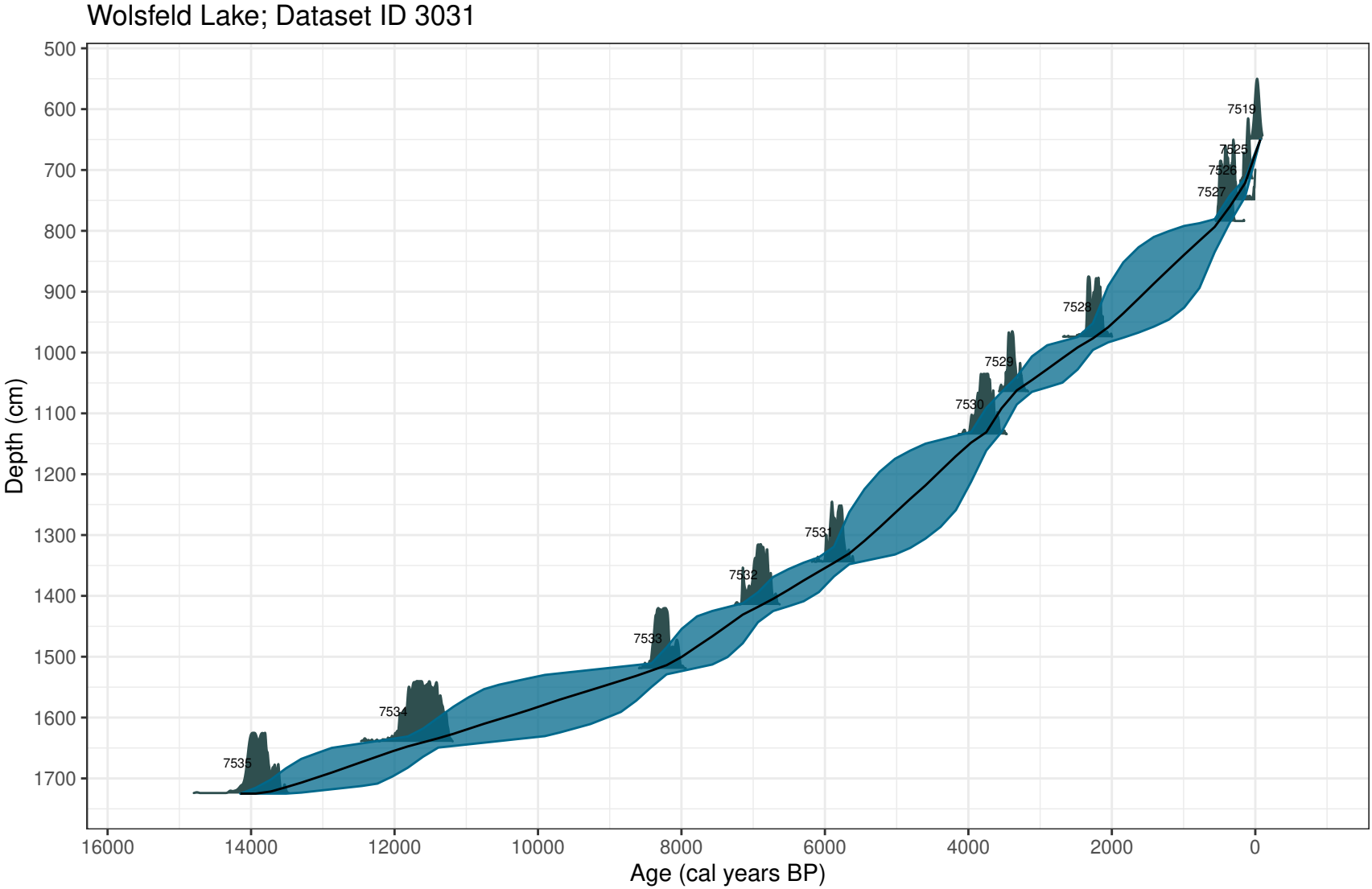
Wolsfeld Lake; Dataset ID 3031
Depth (cm)
500
600
700
800
900
1000
1100
1200
1300
1400
1500
1600
1700
Age (cal years BP)
16000
14000
12000
10000
8000
6000
4000
2000
0
7519
7525
7526
7527
7528
7529
7530
7531
7532
7533
7534
7535

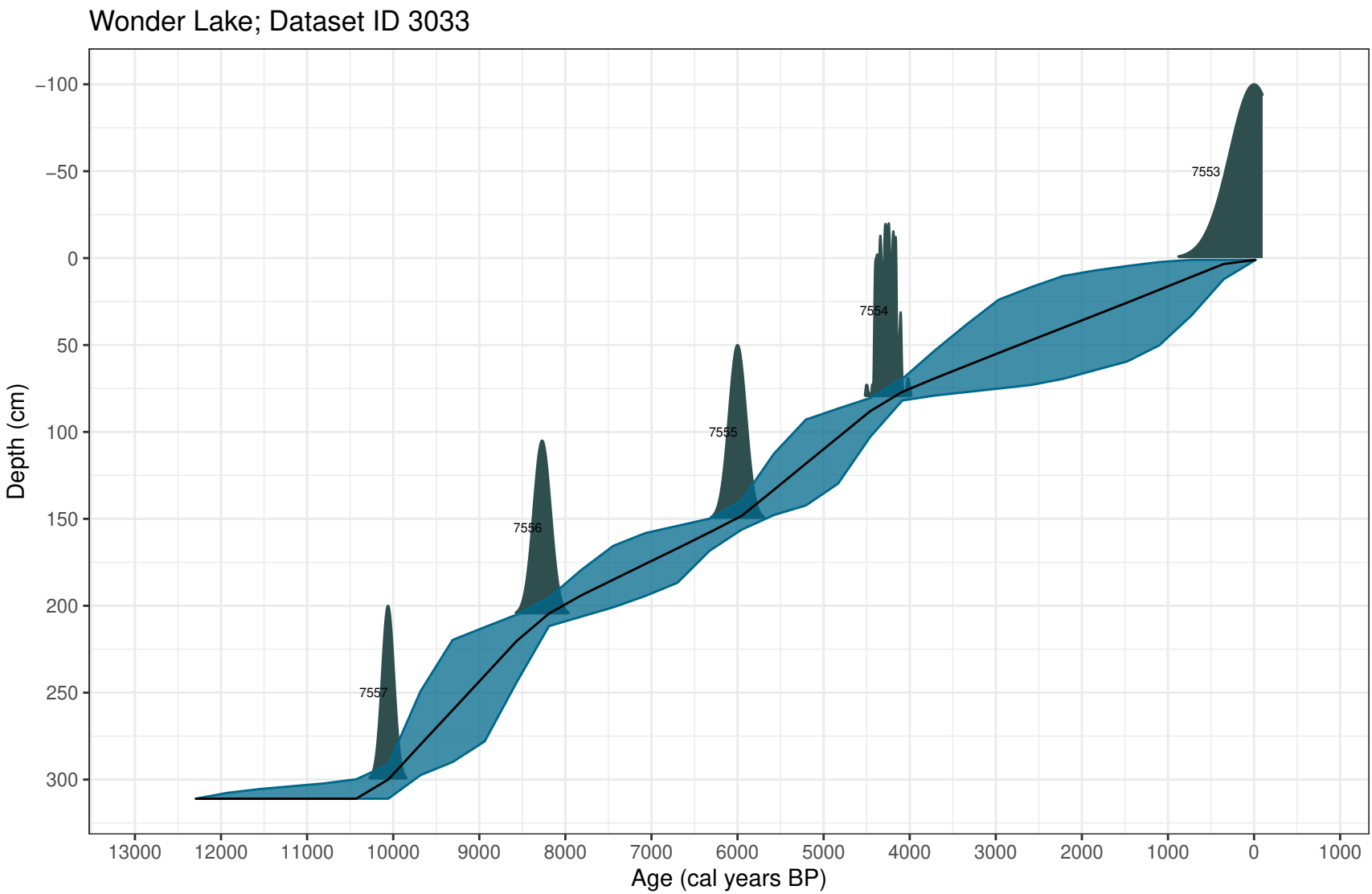
Wonder Lake; Dataset ID 3033
Depth (cm)
−100
−50
0
50
100
150
200
250
300
7553
7554
7555
7556
7557
13000
12000
11000
10000
9000
8000
7000
6000
5000
4000
3000
2000
1000
0
1000
Age (cal years BP)

Woodworth Pond; Dataset ID 3036

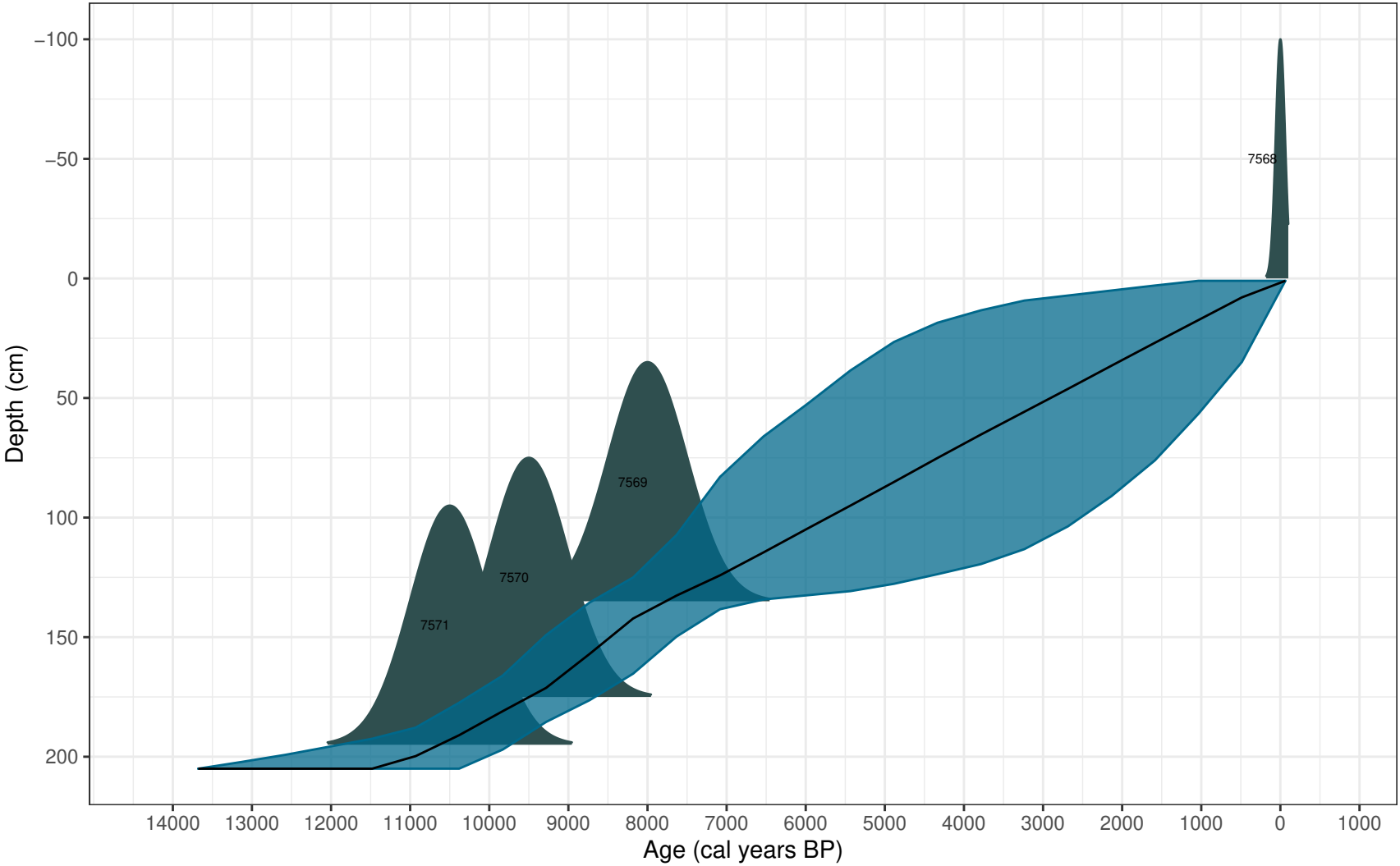

Point Woronzof Peat Section; Dataset ID 3038

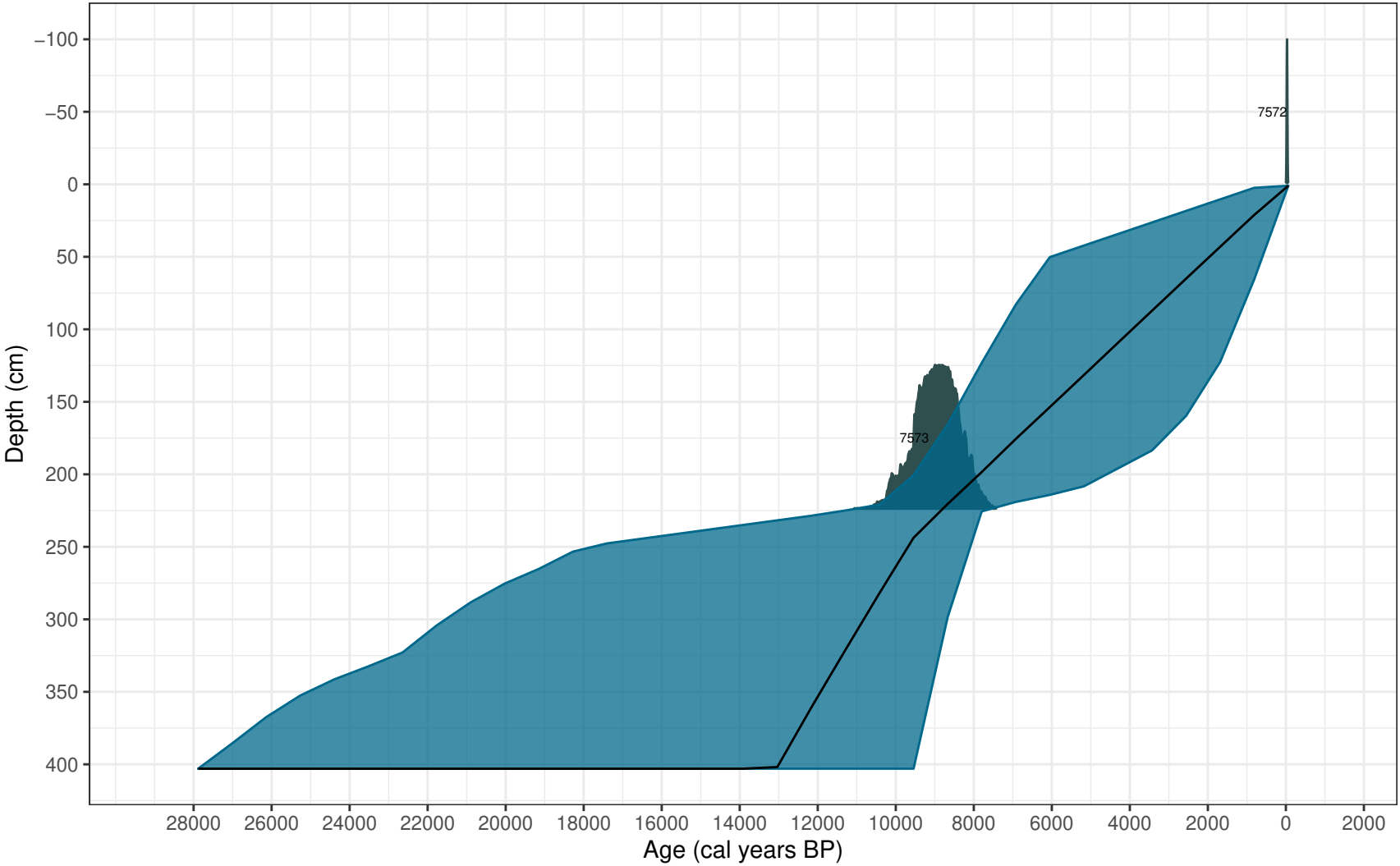

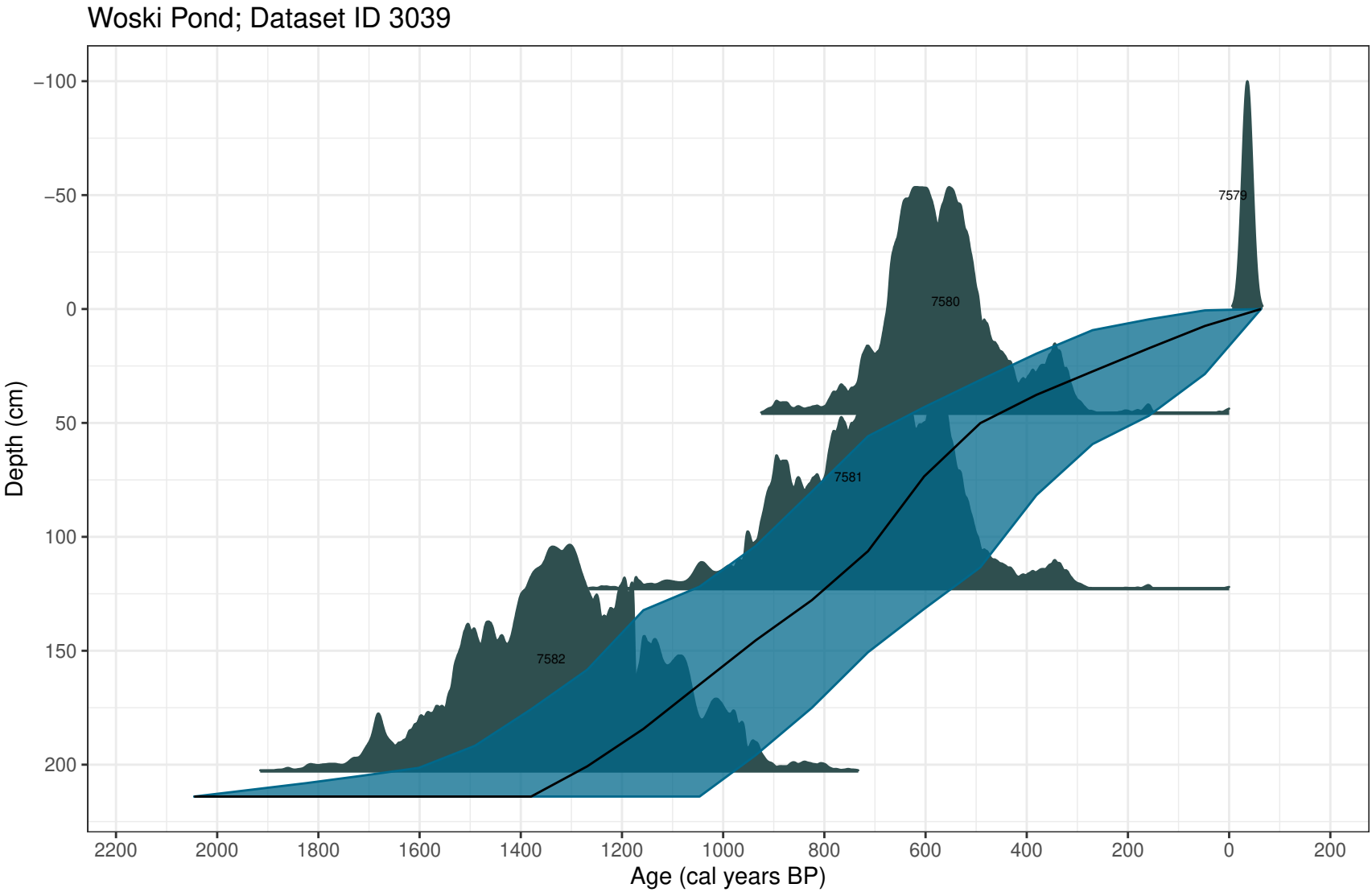
Woski Pond; Dataset ID 3039
Depth (cm)
−100
−50
0
50
100
150
200
7579
7580
7581
7582
2200
2000
1800
1600
1400
1200
1000
800
600
400
200
0
200
Age (cal years BP)

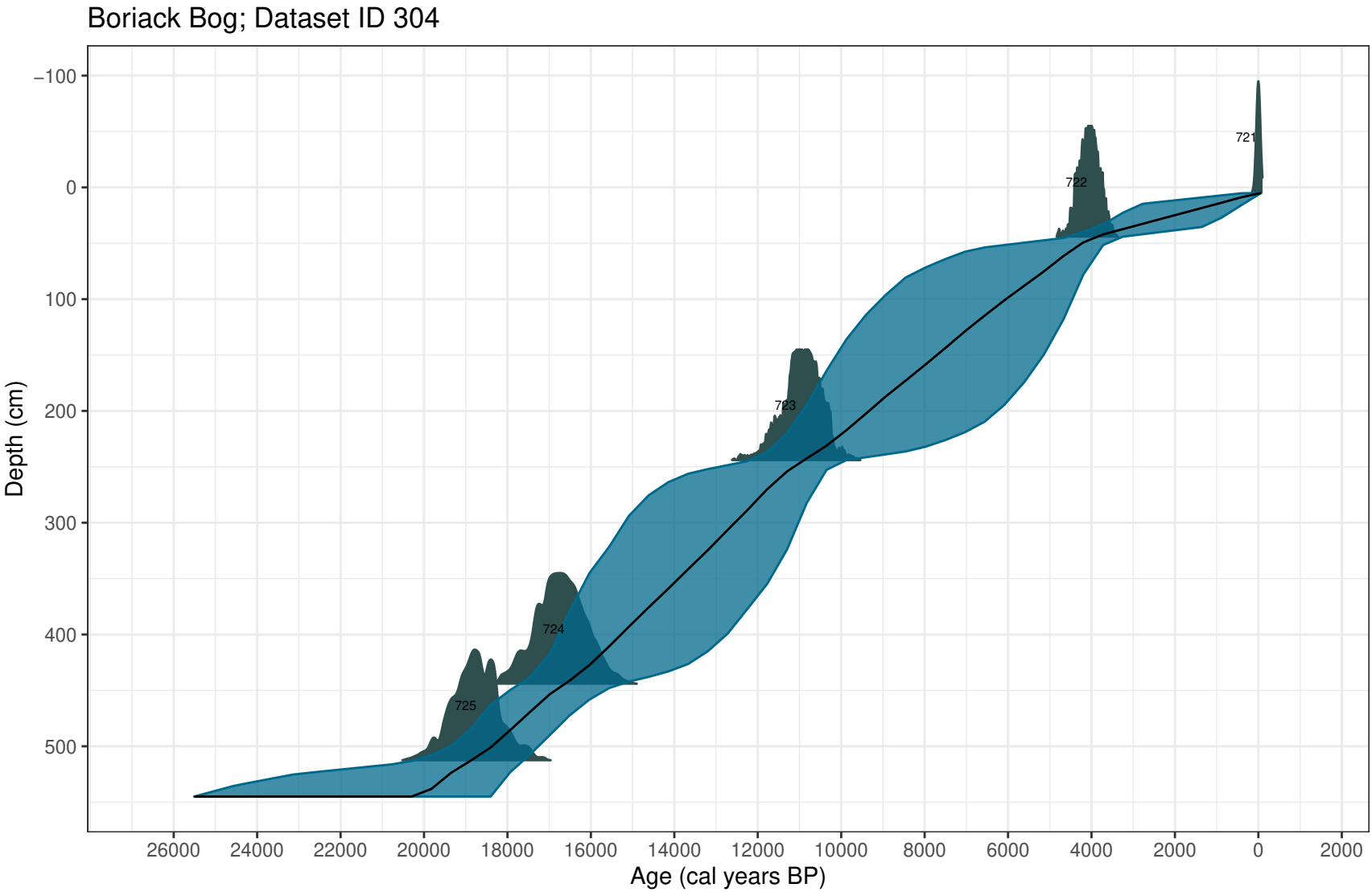
Boriack Bog; Dataset ID 304
Depth (cm)
−100
0
100
200
300
400
500
721
722
723
724
725
26000
24000
22000
20000
18000
16000
14000
12000
10000
8000
6000
4000
2000
0
2000
Age (cal years BP)

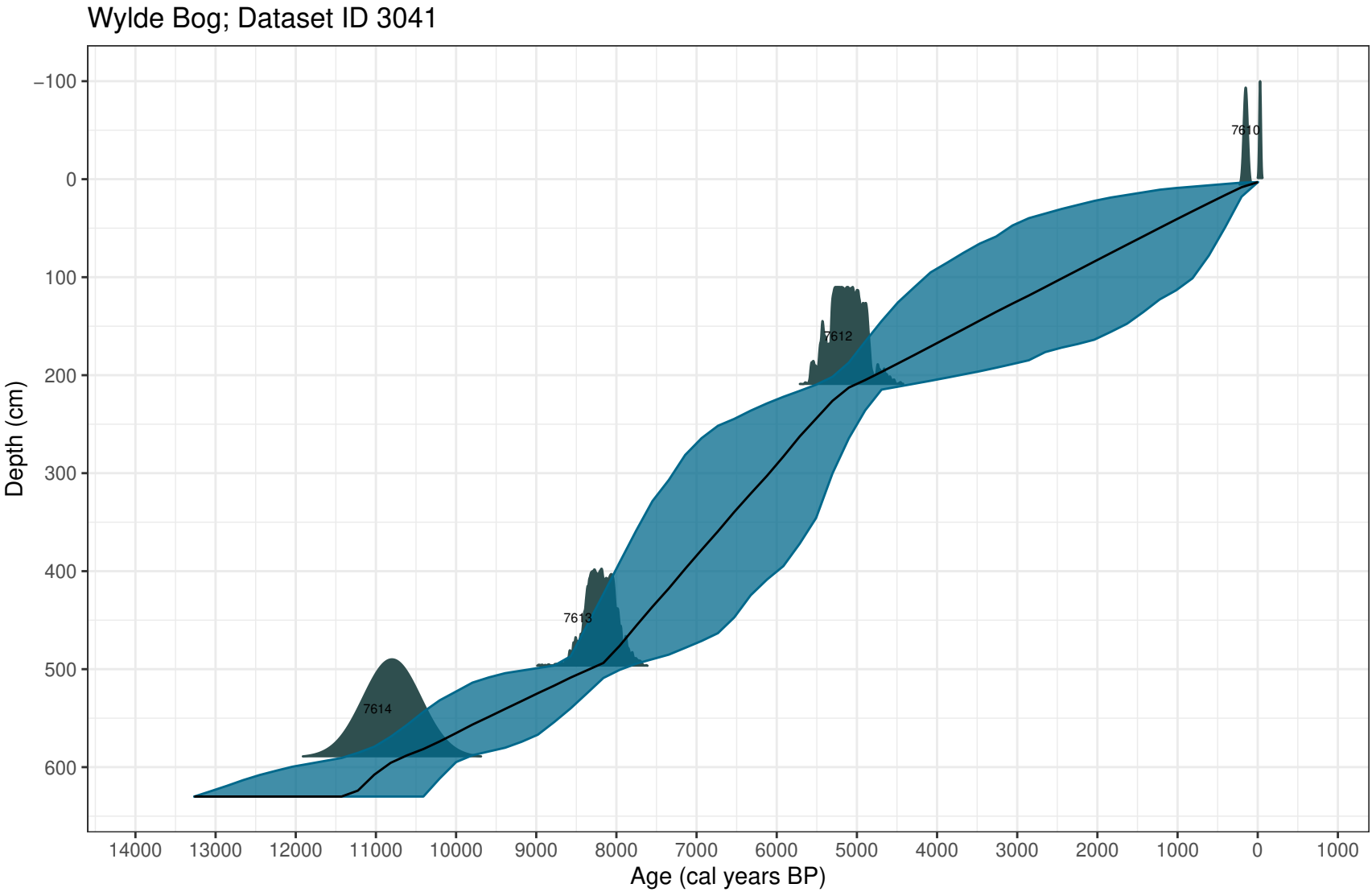
Wylde Bog; Dataset ID 3041
Depth (cm)
−100
0
100
200
300
400
500
600
7610
7612
7613
7614
14000
13000
12000
11000
10000
9000
8000
7000
6000
5000
4000
3000
2000
1000
0
1000
Age (cal years BP)

Wylde Lake; Dataset ID 3042

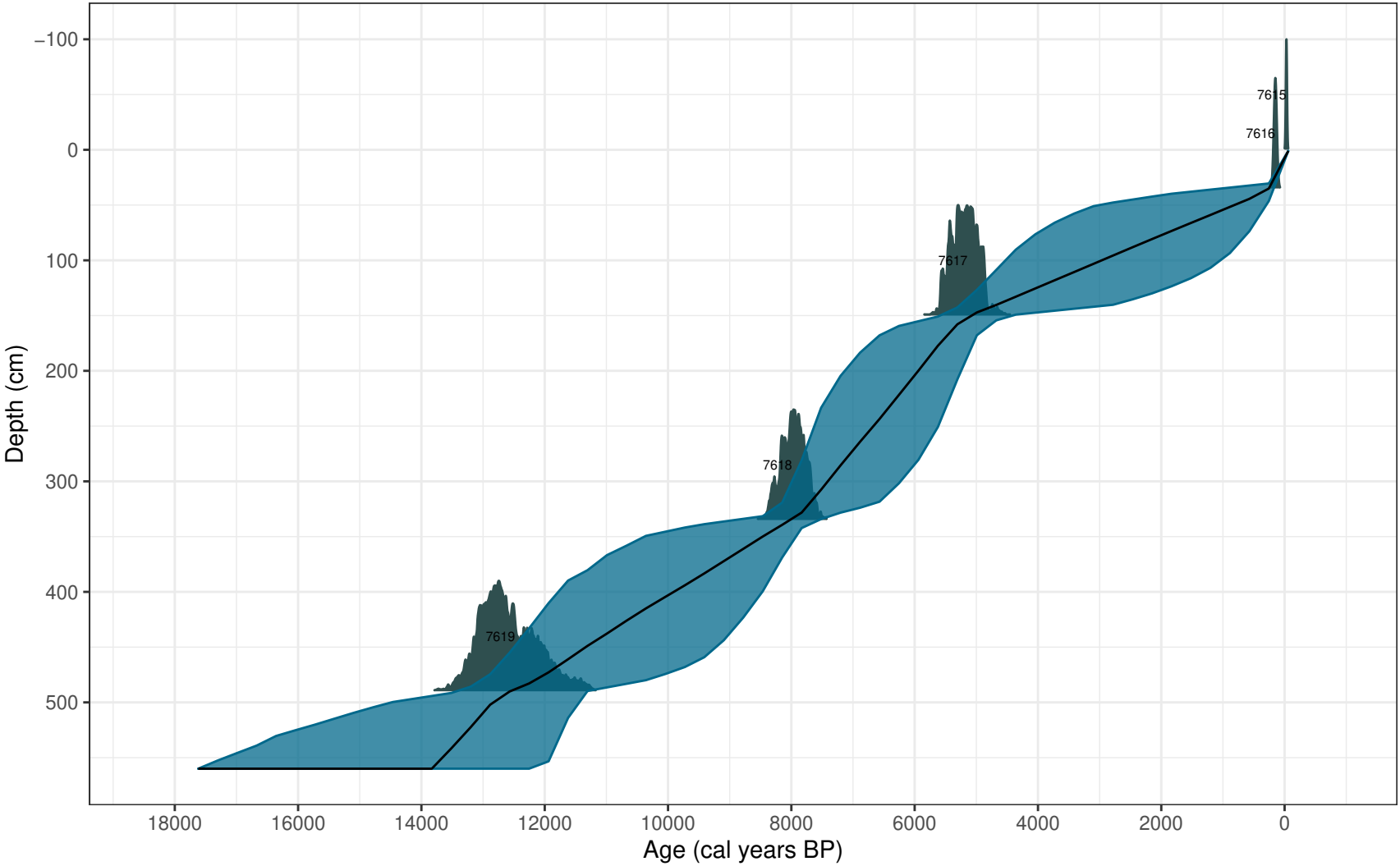

Lac Yelle; Dataset ID 3046

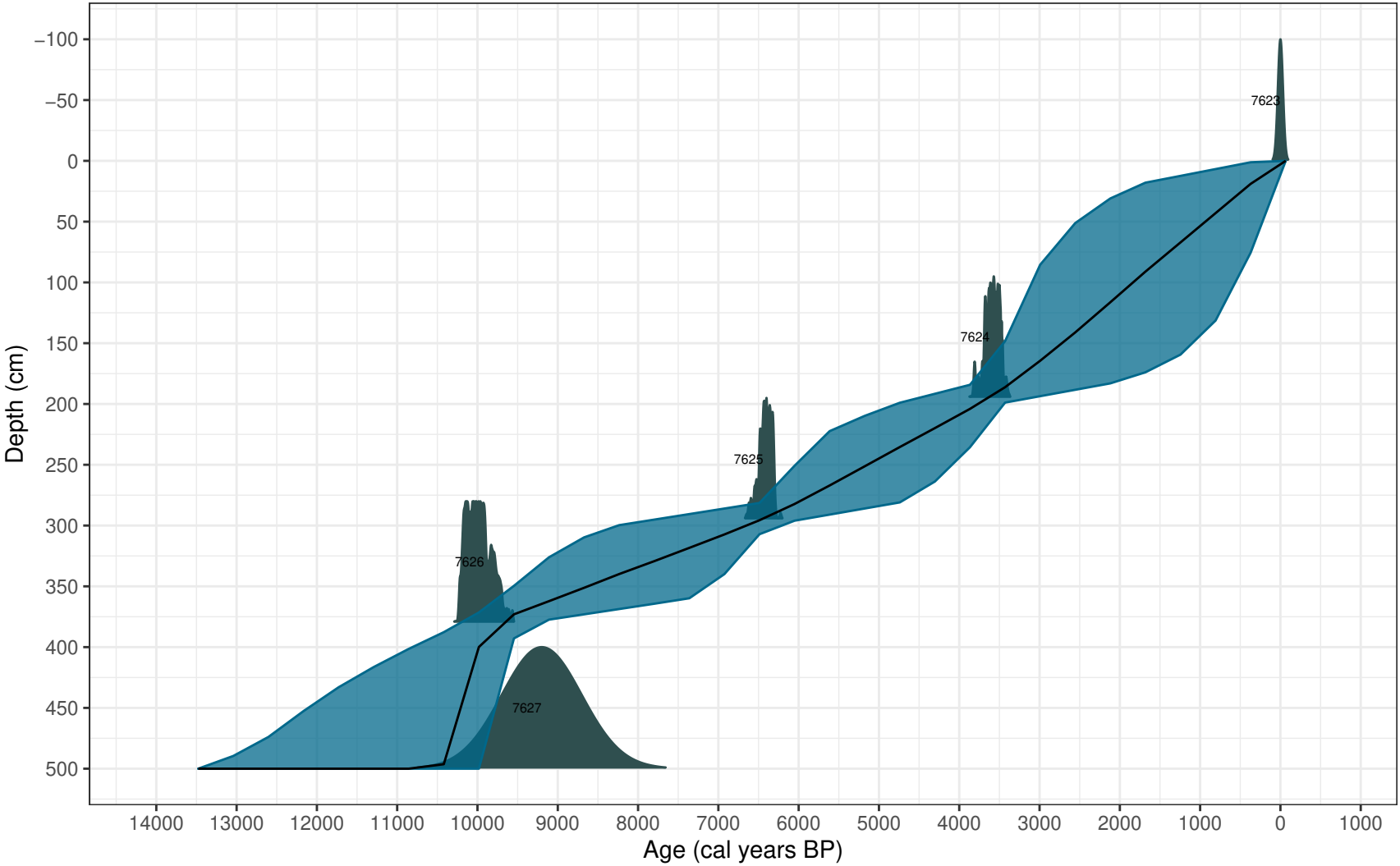

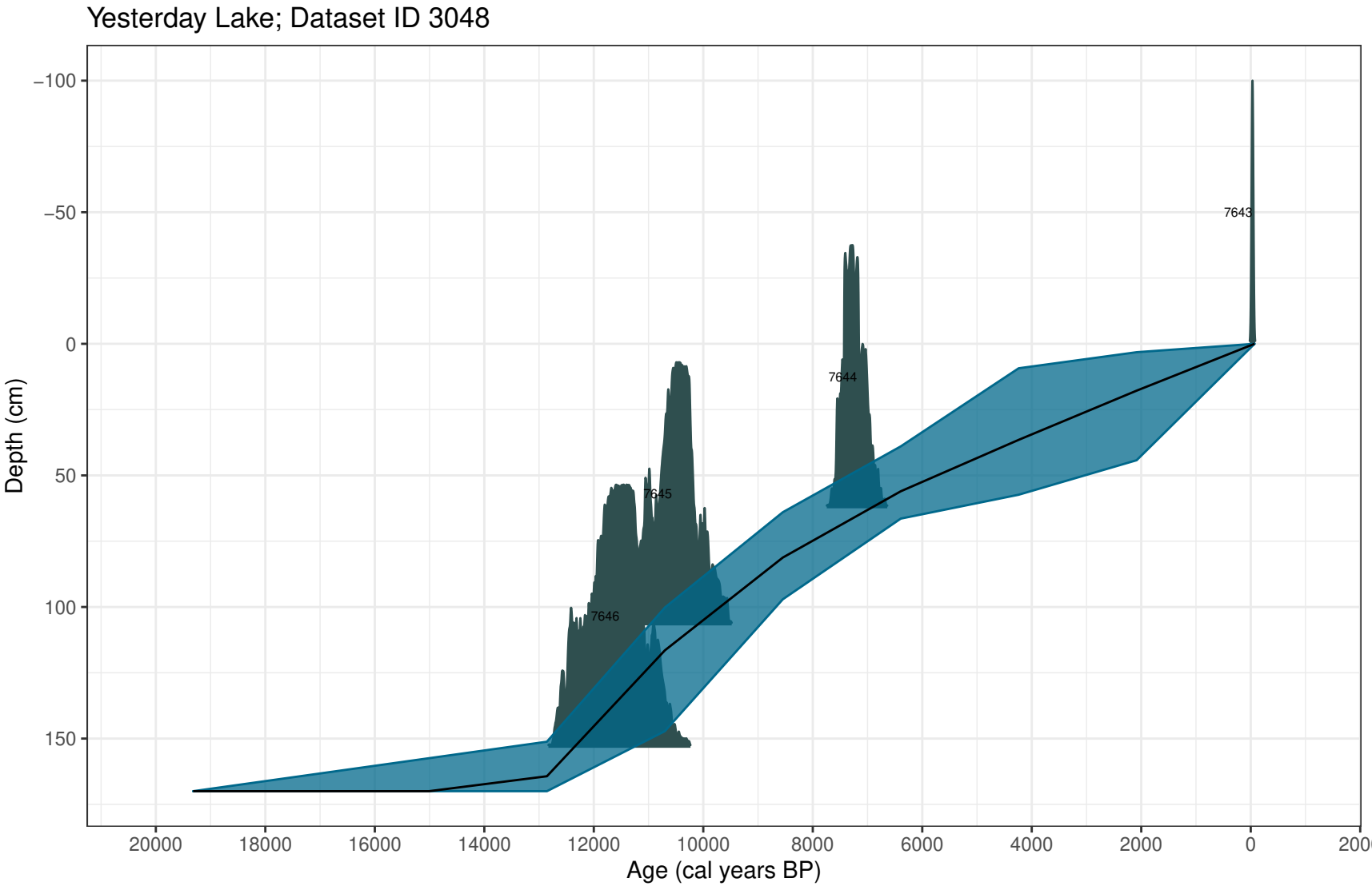
Yesterday Lake; Dataset ID 3048
Depth (cm)
−100
−50
0
50
100
150
7643
7644
7645
7646
20000
18000
16000
14000
12000
10000
8000
6000
4000
2000
0
Age (cal years BP)

Zuehl Farm Site; Dataset ID 3050

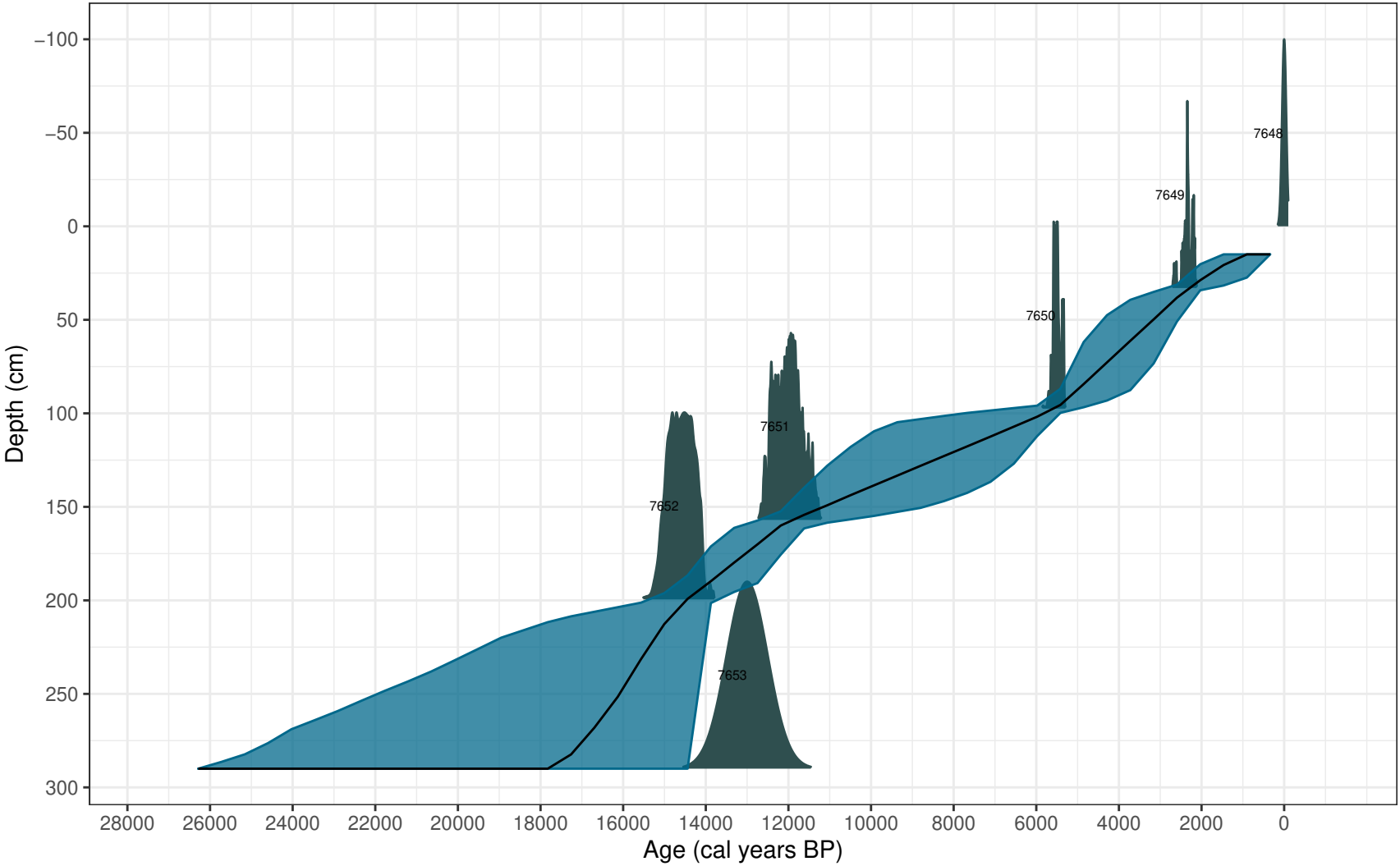

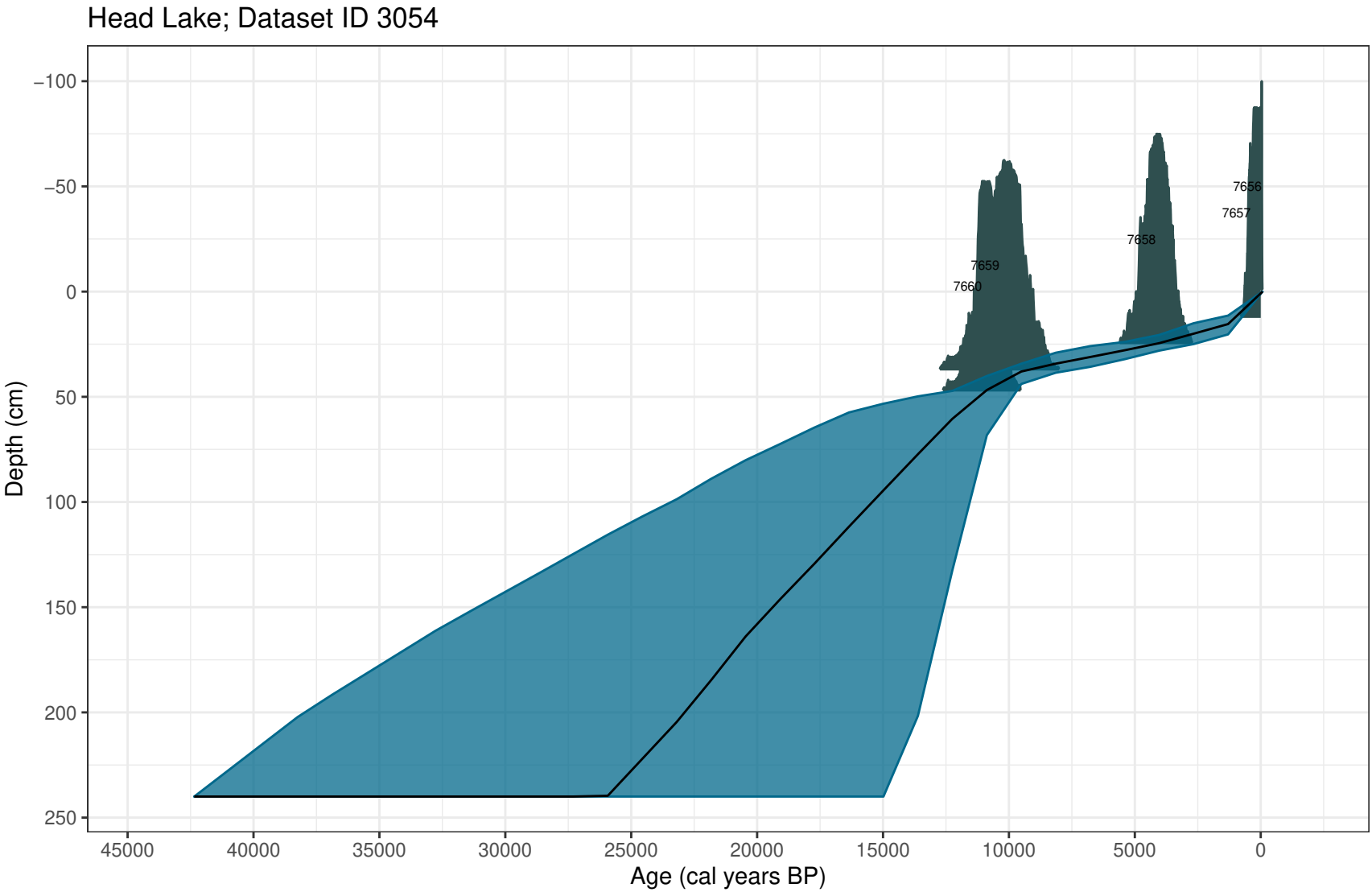
Head Lake; Dataset ID 3054
Depth (cm)
−100
−50
0
50
100
150
200
250
45000
40000
35000
30000
25000
20000
15000
10000
5000
0
Age (cal years BP)
7656
7657
7658
7659
7660

Como Lake; Dataset ID 3056

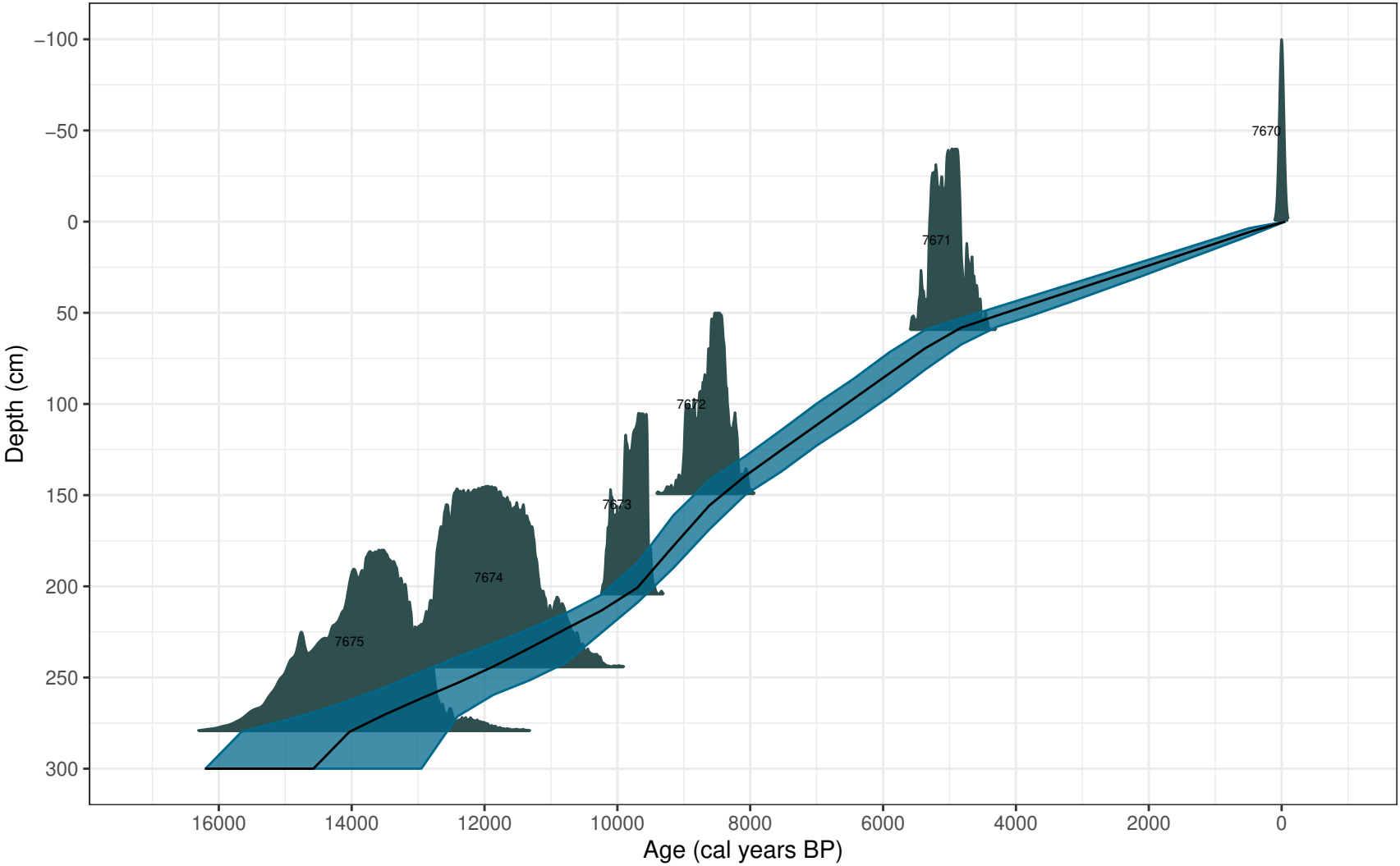

Basswood Road Lake/Splan Pond; Dataset ID 3058

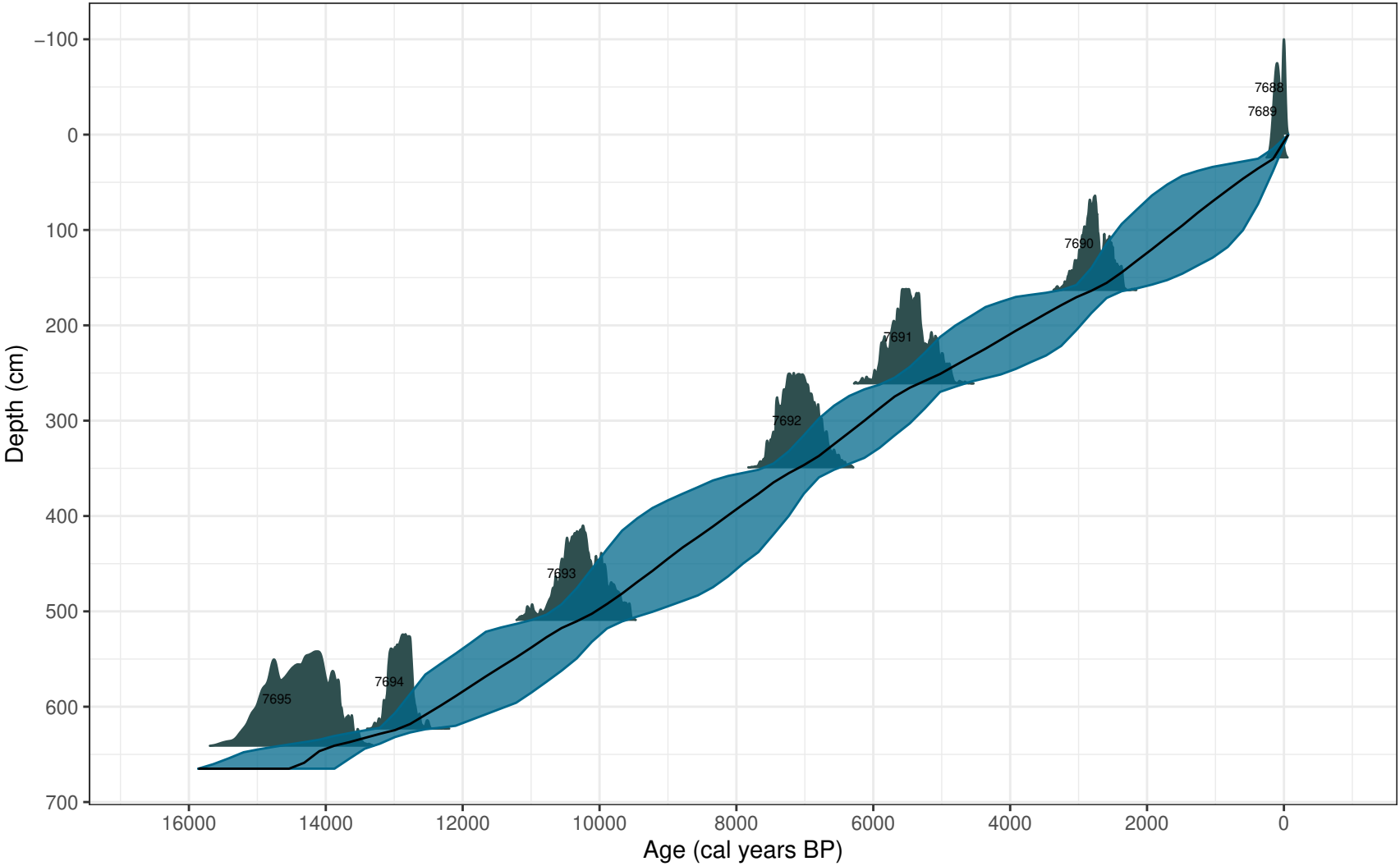

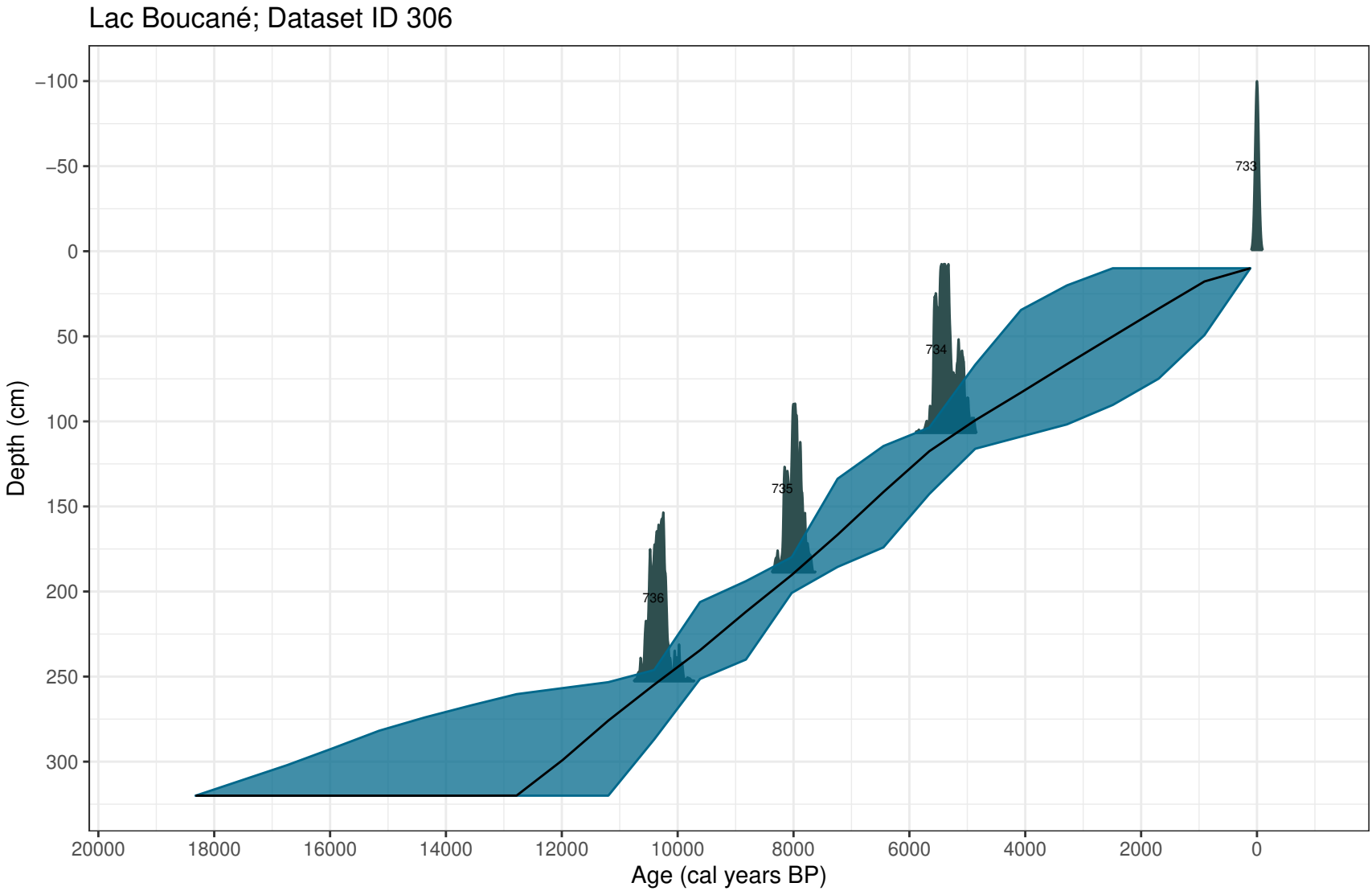
Lac Boucané; Dataset ID 306
Depth (cm)
−100
−50
0
50
100
150
200
250
300
Age (cal years BP)
20000
18000
16000
14000
12000
10000
8000
6000
4000
2000
0
733
734
735
736

Bechan Cave; Dataset ID 3060

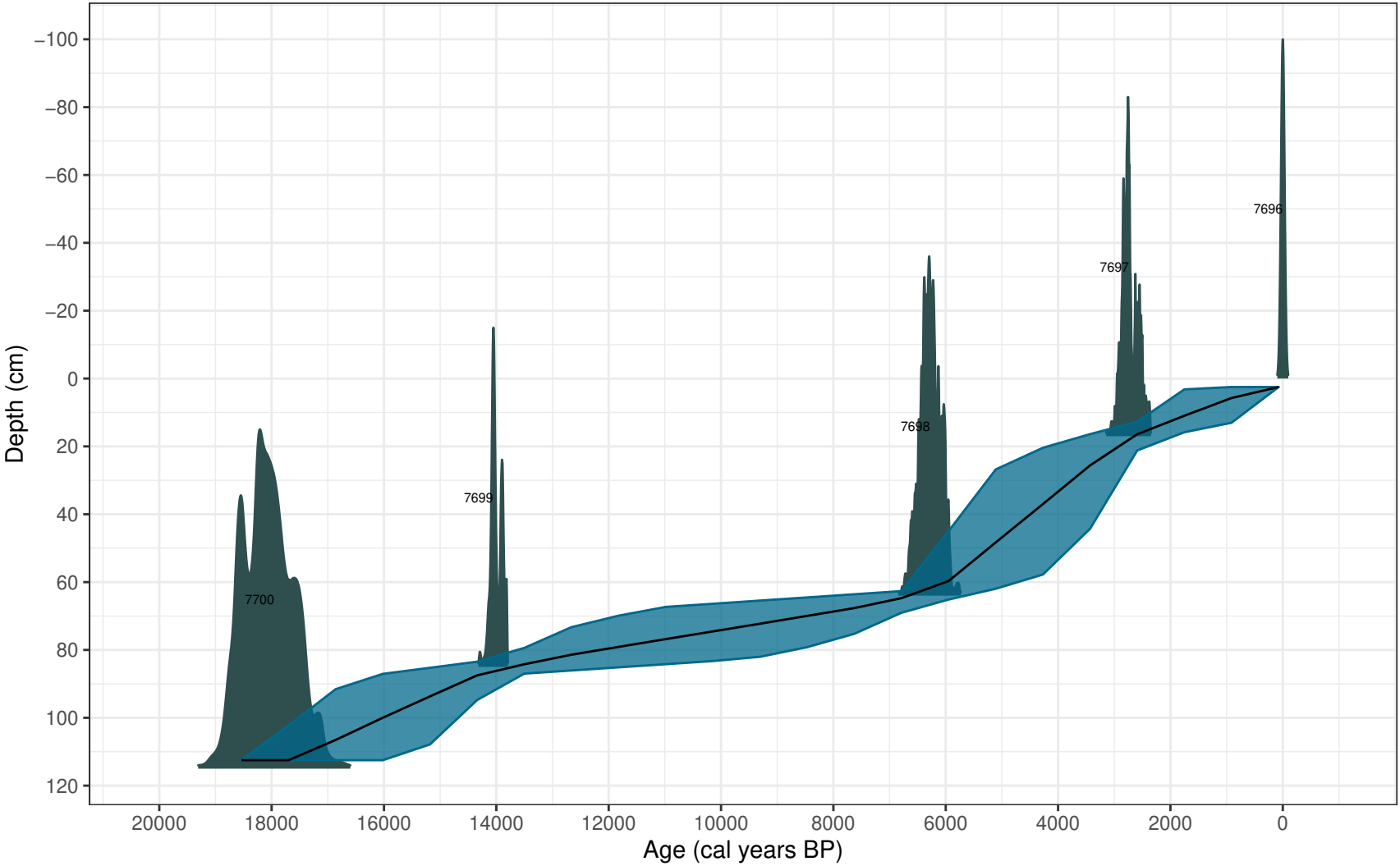

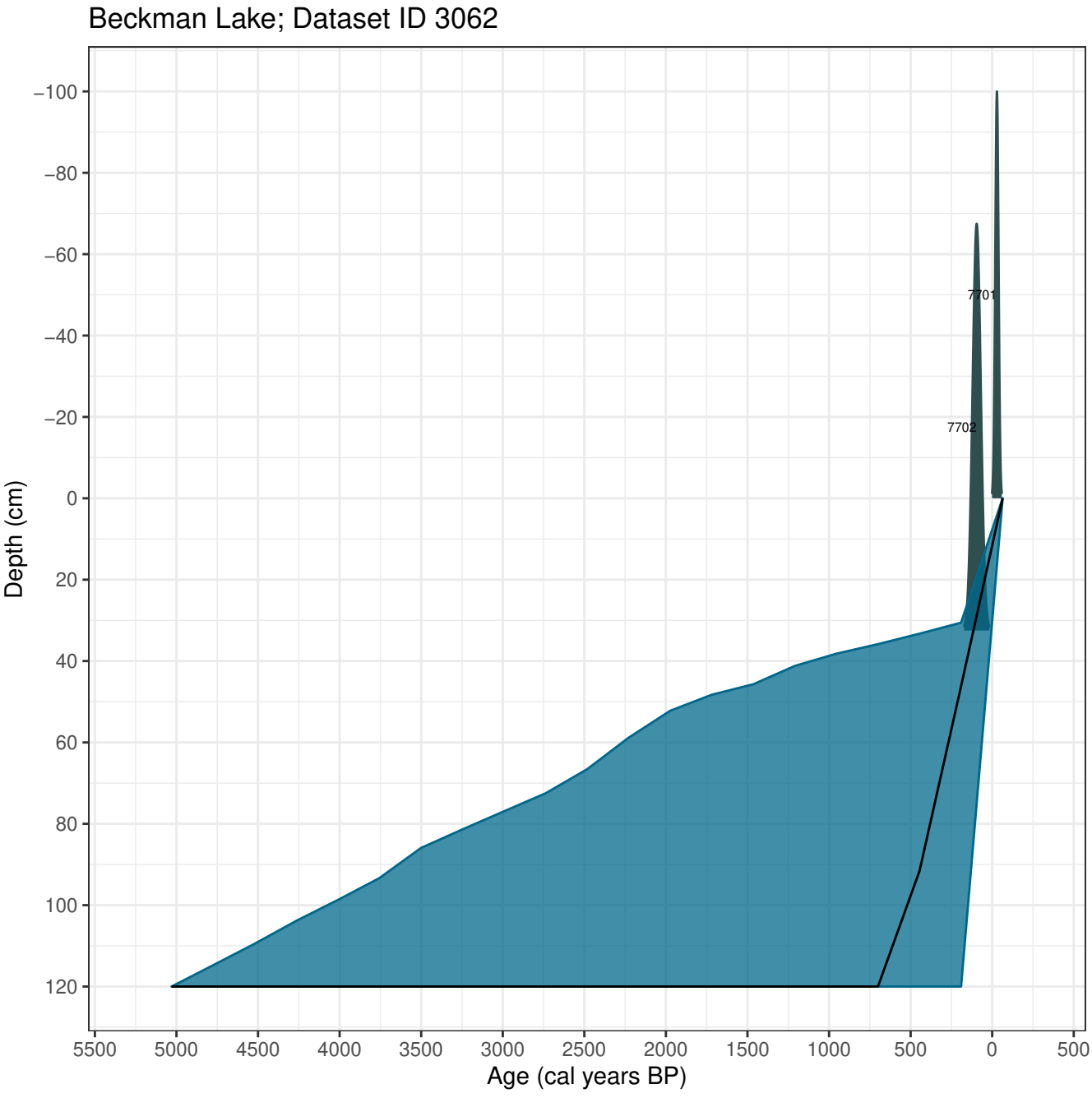
Beckman Lake; Dataset ID 3062
Depth (cm)
−100
−80
−60
−40
−20
0
20
40
60
80
100
120
7701
7702
5500
5000
4500
4000
3500
3000
2500
2000
1500
1000
500
0
500
Age (cal years BP)

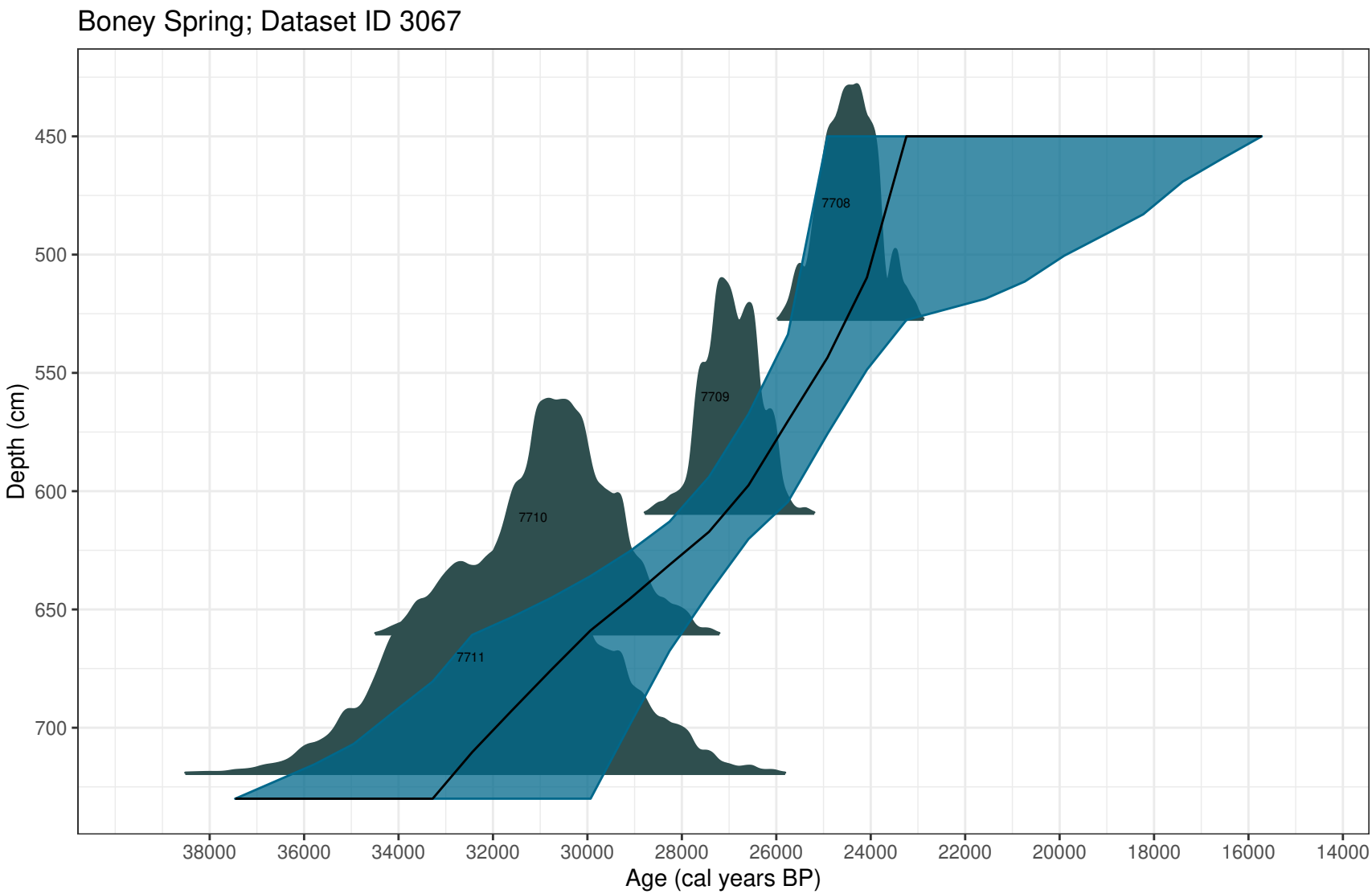
Boney Spring; Dataset ID 3067
Depth (cm)
450
500
550
600
650
700
7708
7709
7710
7711
38000
36000
34000
32000
30000
28000
26000
24000
22000
20000
18000
16000
14000
Age (cal years BP)

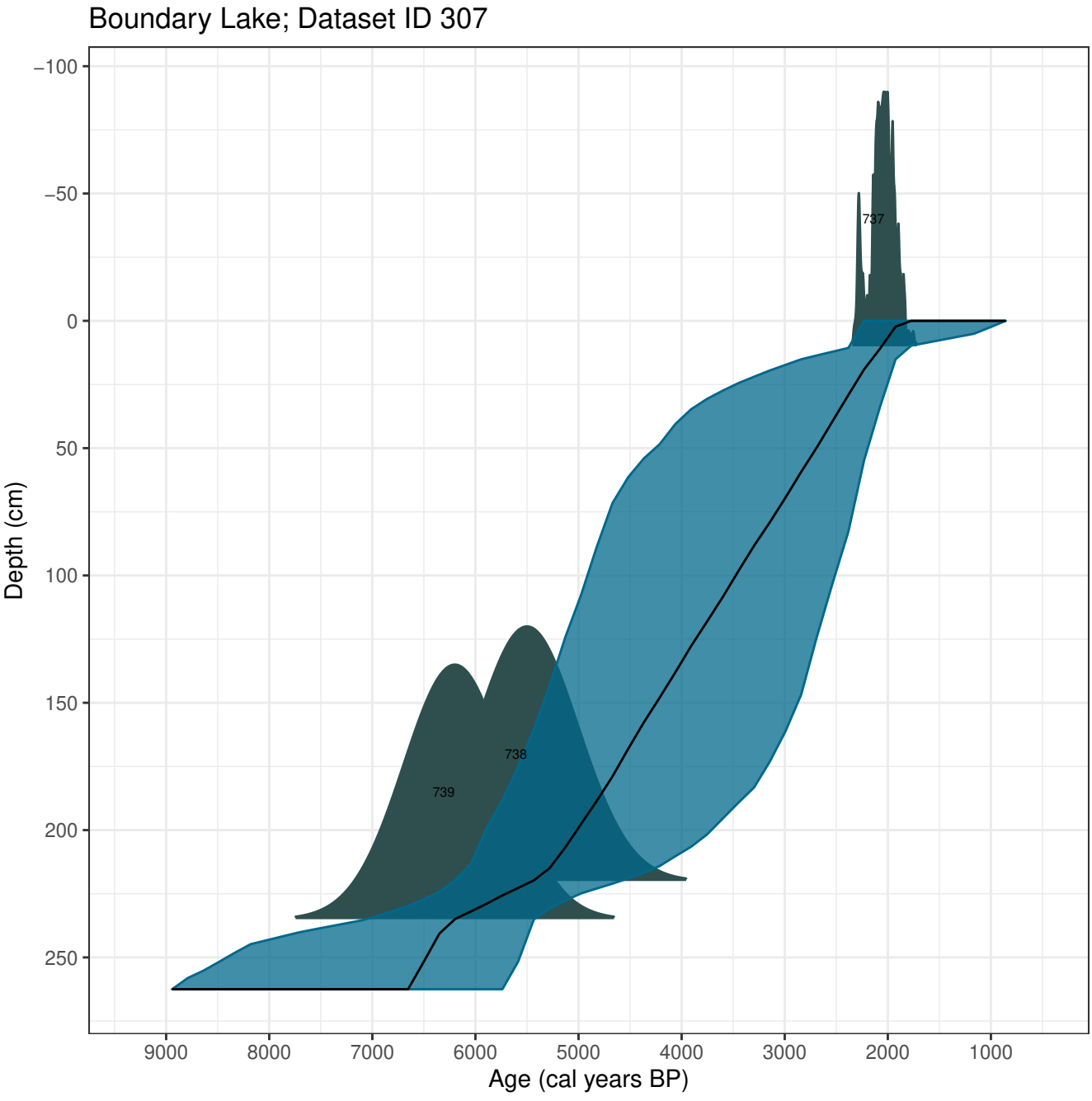
Boundary Lake; Dataset ID 307
Depth (cm)
−100
−50
0
50
100
150
200
250
737
738
739
9000
8000
7000
6000
5000
4000
3000
2000
1000
Age (cal years BP)

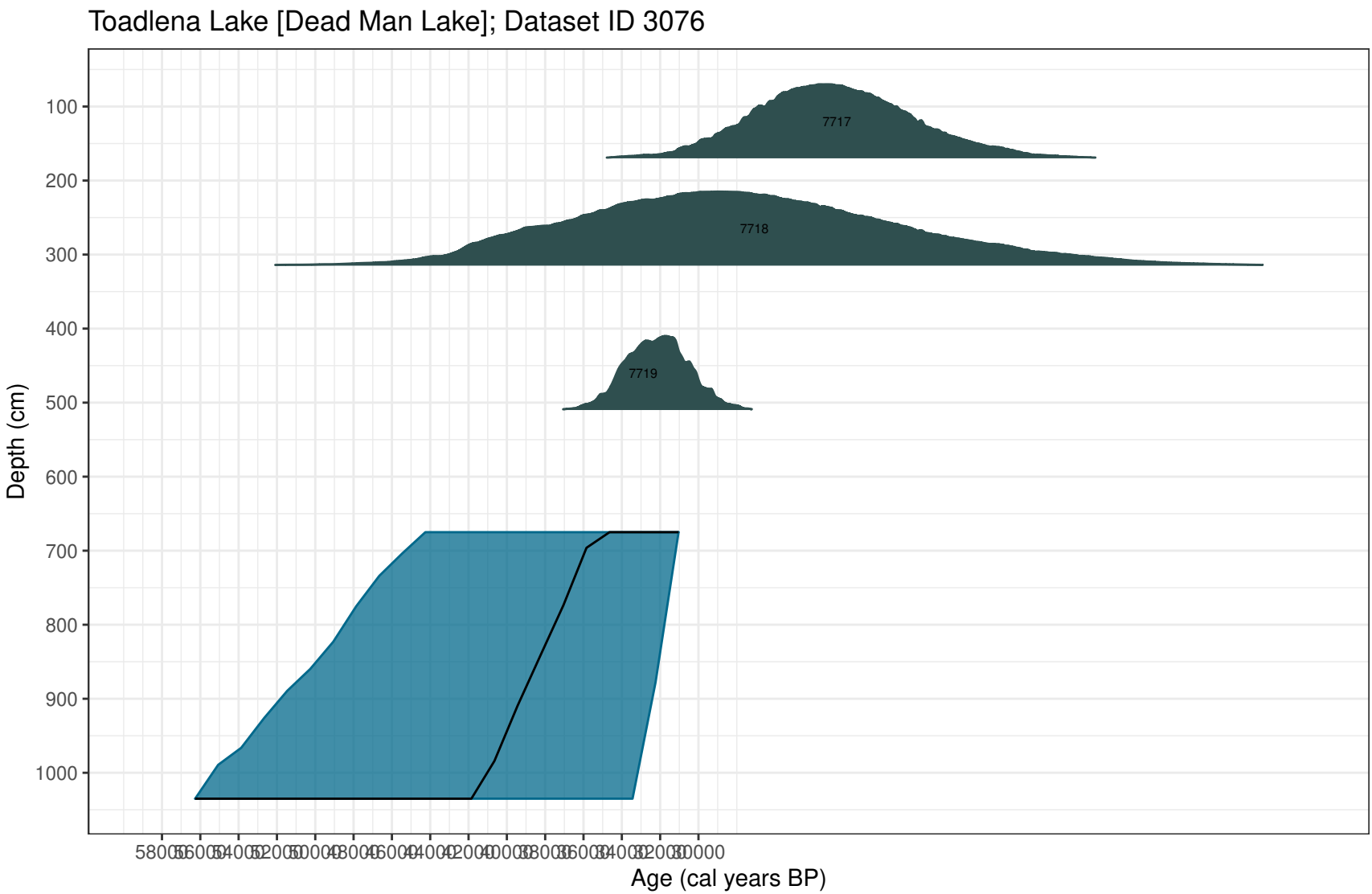
Toadlena Lake [Dead Man Lake]; Dataset ID 3076
7717
7718
7719
Depth (cm)
100
200
300
400
500
600
700
800
900
1000
Age (cal years BP)

Boundary Pond; Dataset ID 308

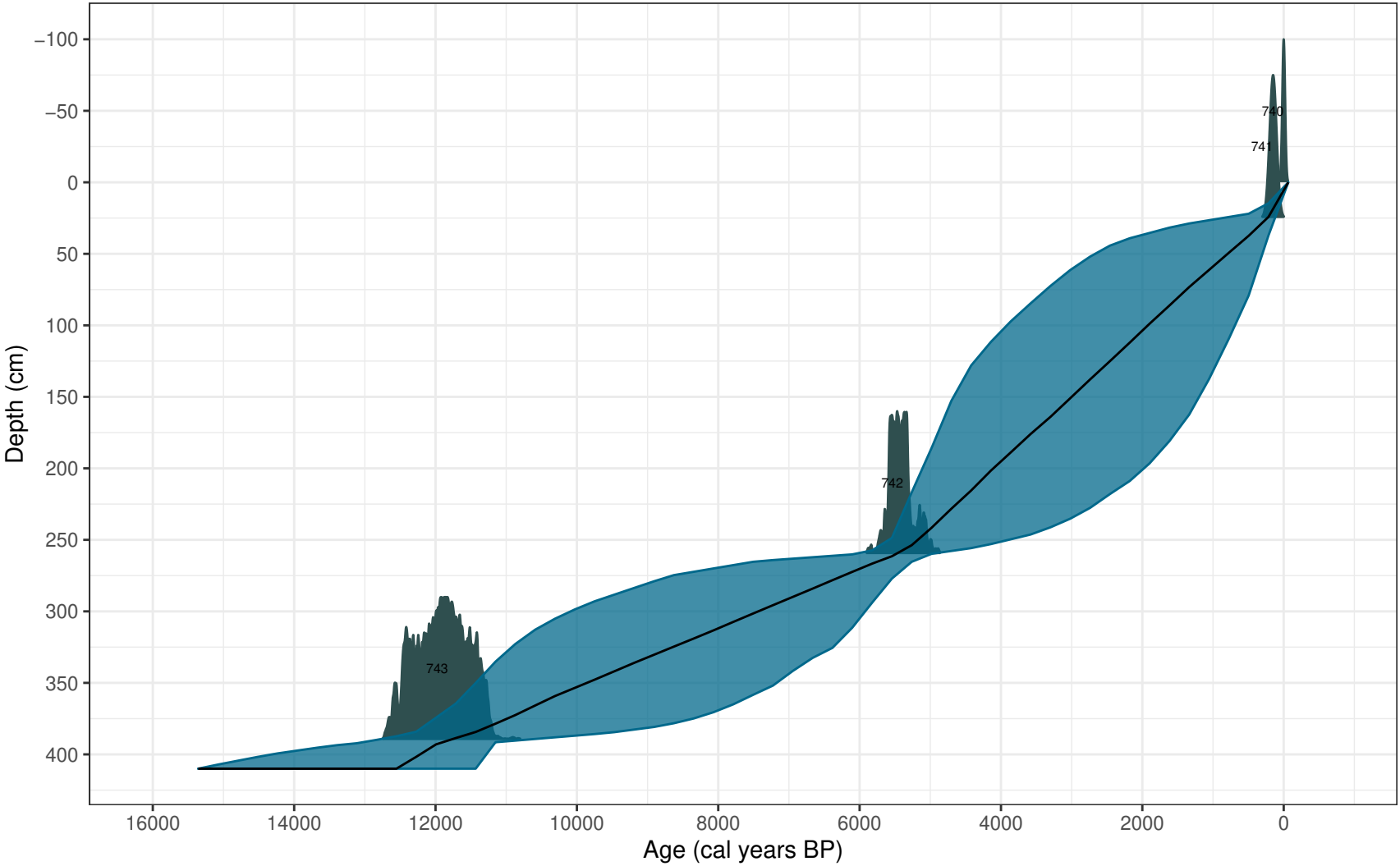

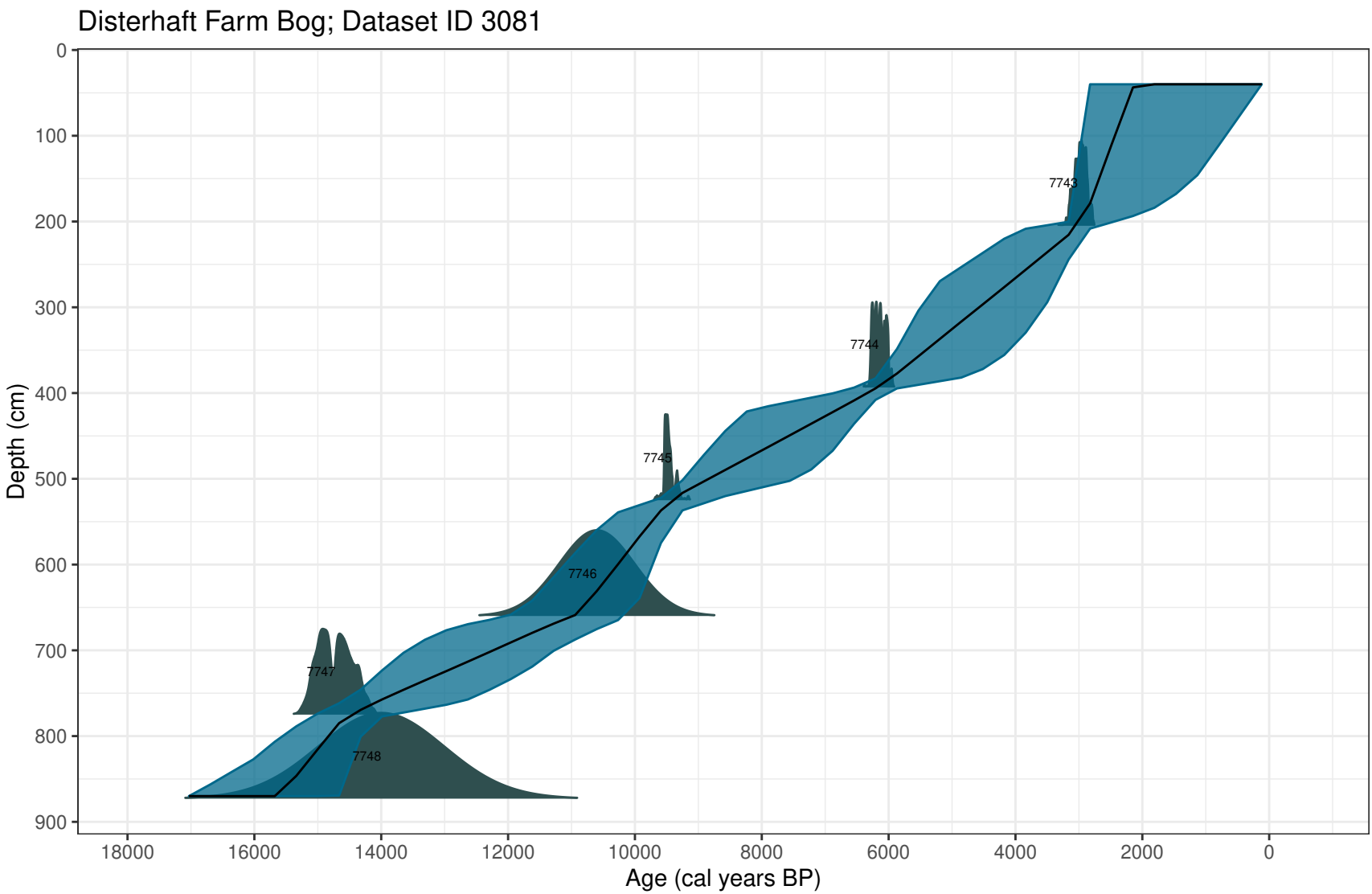
Disterhaft Farm Bog; Dataset ID 3081
Depth (cm)
0
100
200
300
400
500
600
700
800
900
Age (cal years BP)
18000
16000
14000
12000
10000
8000
6000
4000
2000
0
7743
7744
7745
7746
7747
7748

Brandreth Bog; Dataset ID 309

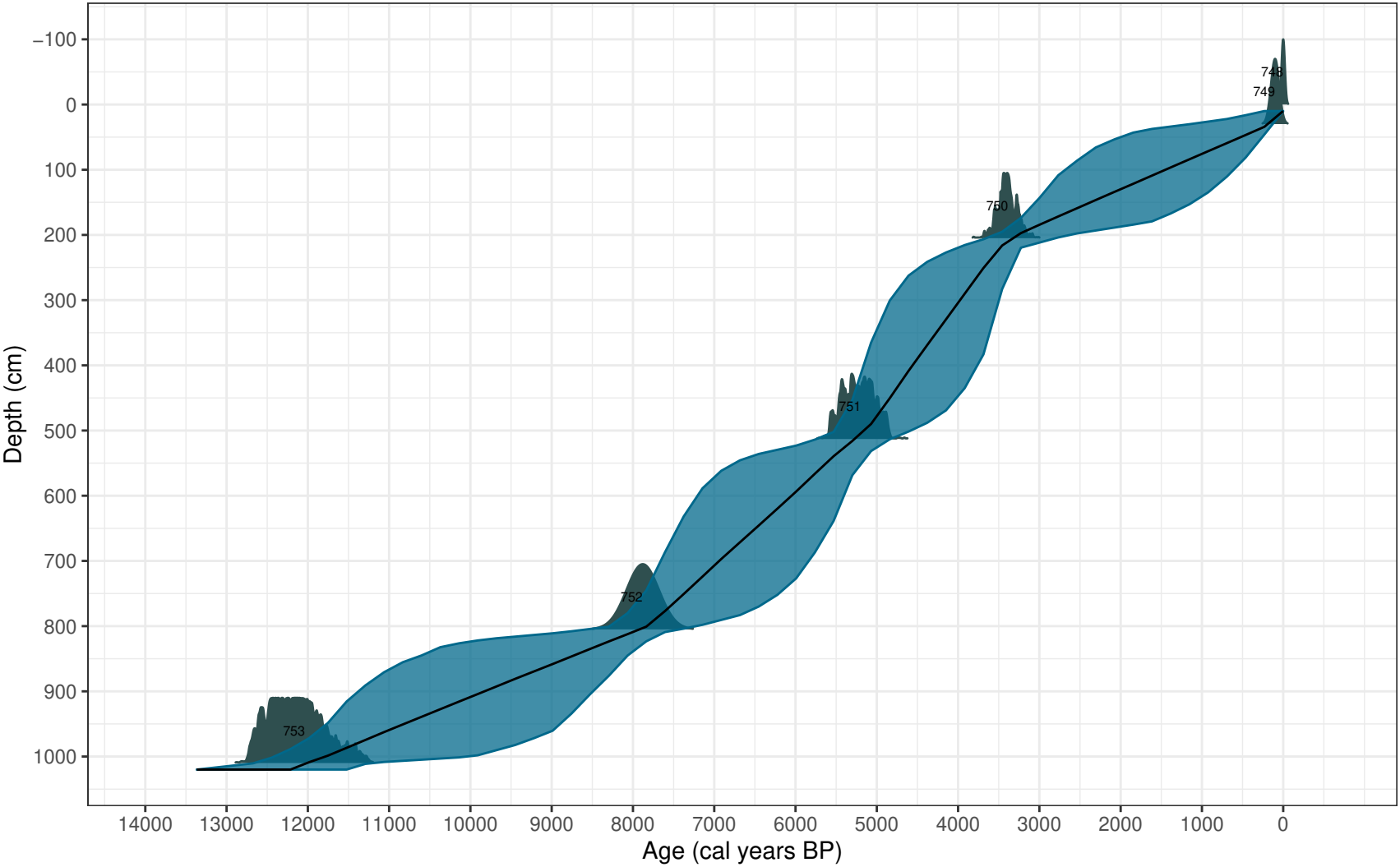

Brisay 2; Dataset ID 311

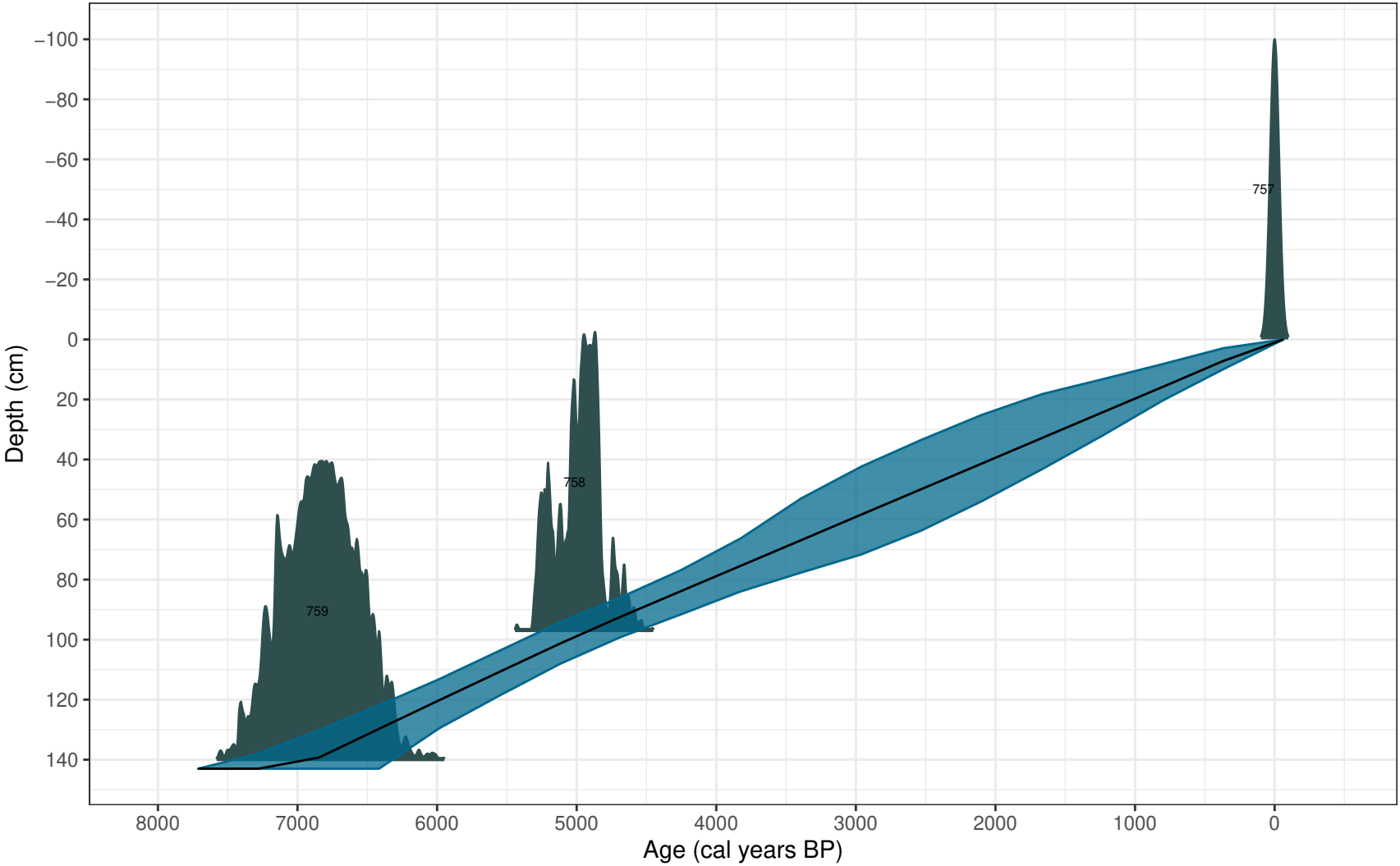

Brophy Ditch; Dataset ID 312

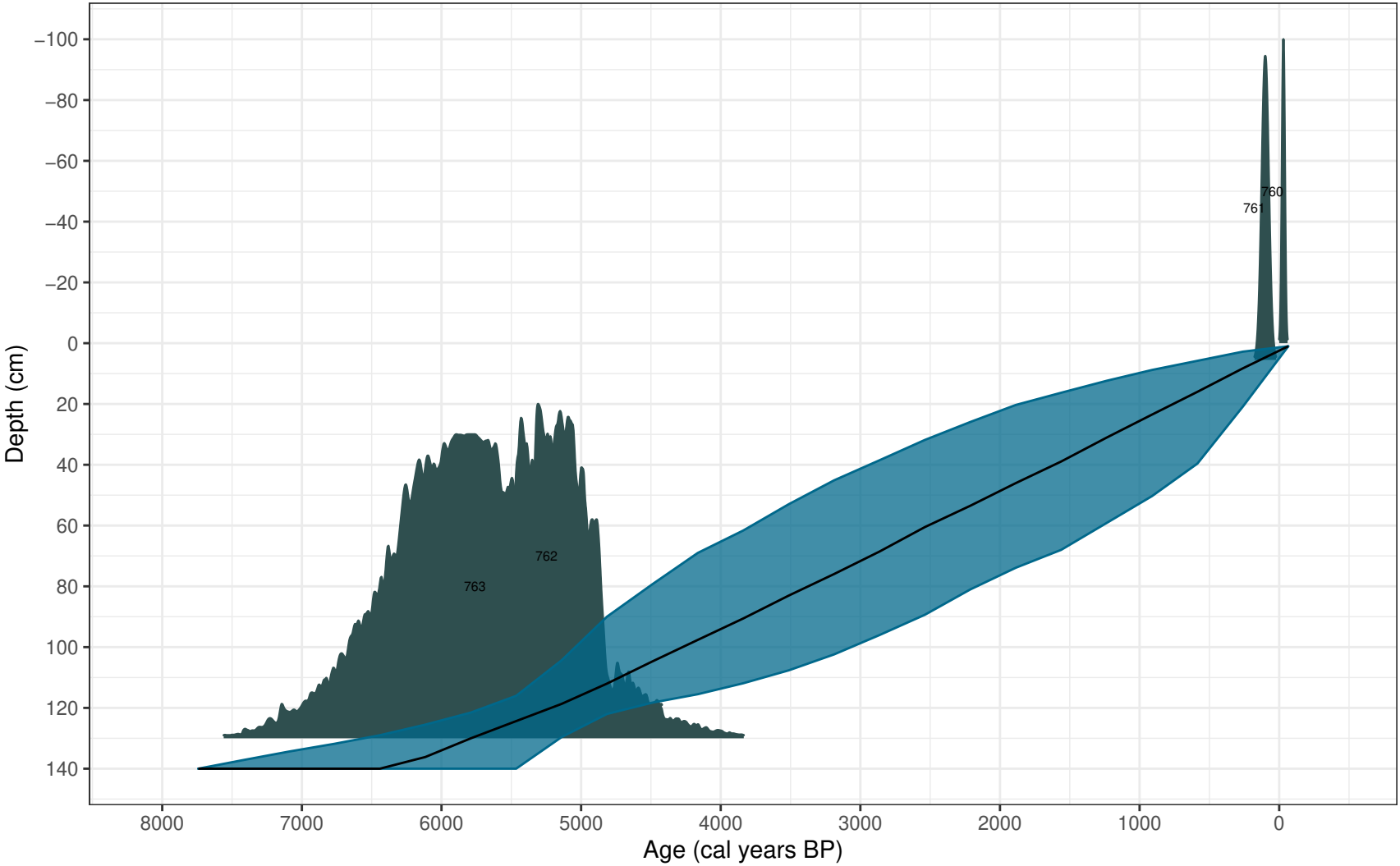

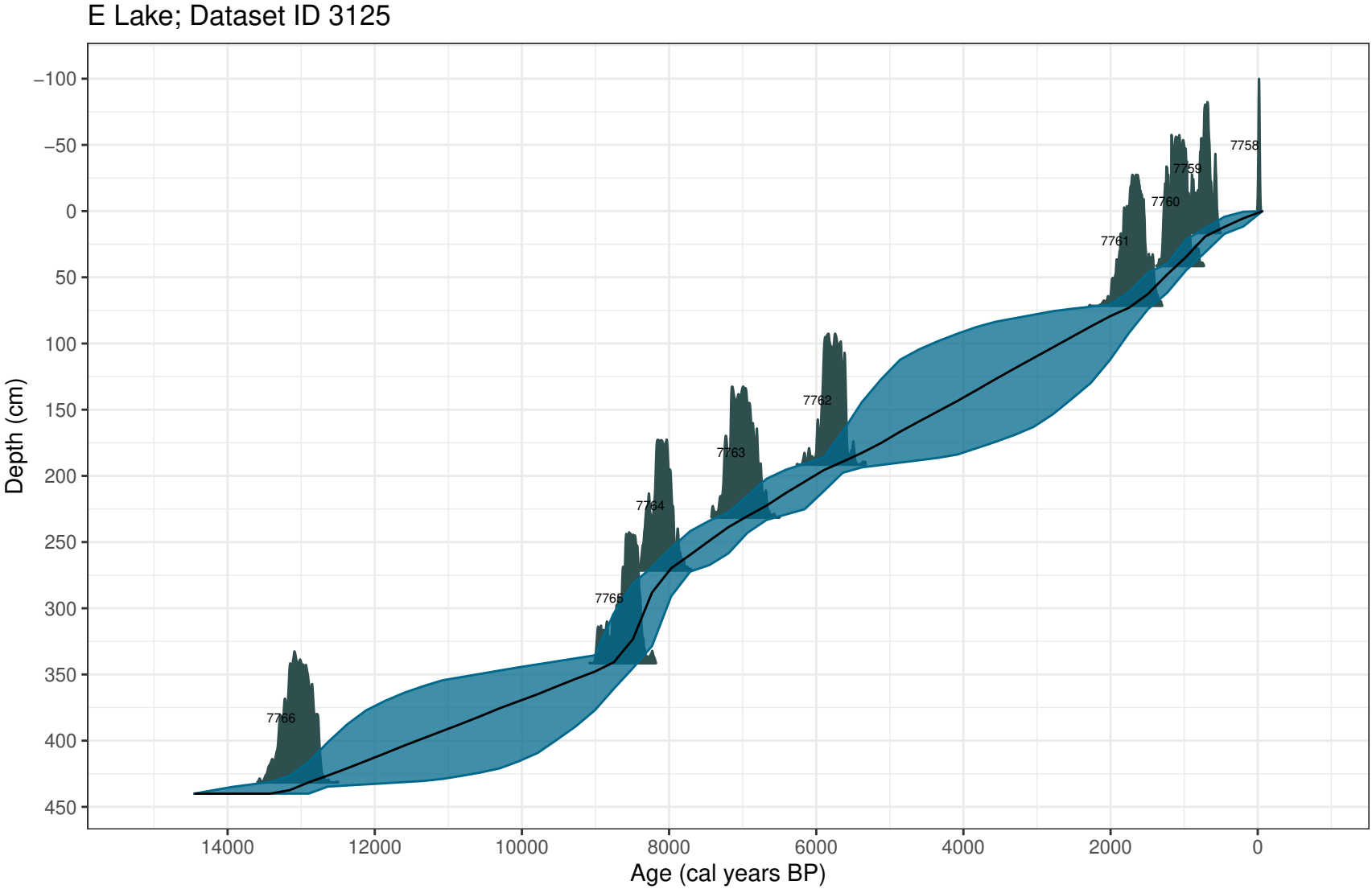
E Lake; Dataset ID 3125
Depth (cm)
−100
−50
0
50
100
150
200
250
300
350
400
450
14000
12000
10000
8000
6000
4000
2000
0
Age (cal years BP)
7758
7759
7760
7761
7762
7763
7764
7765
7766

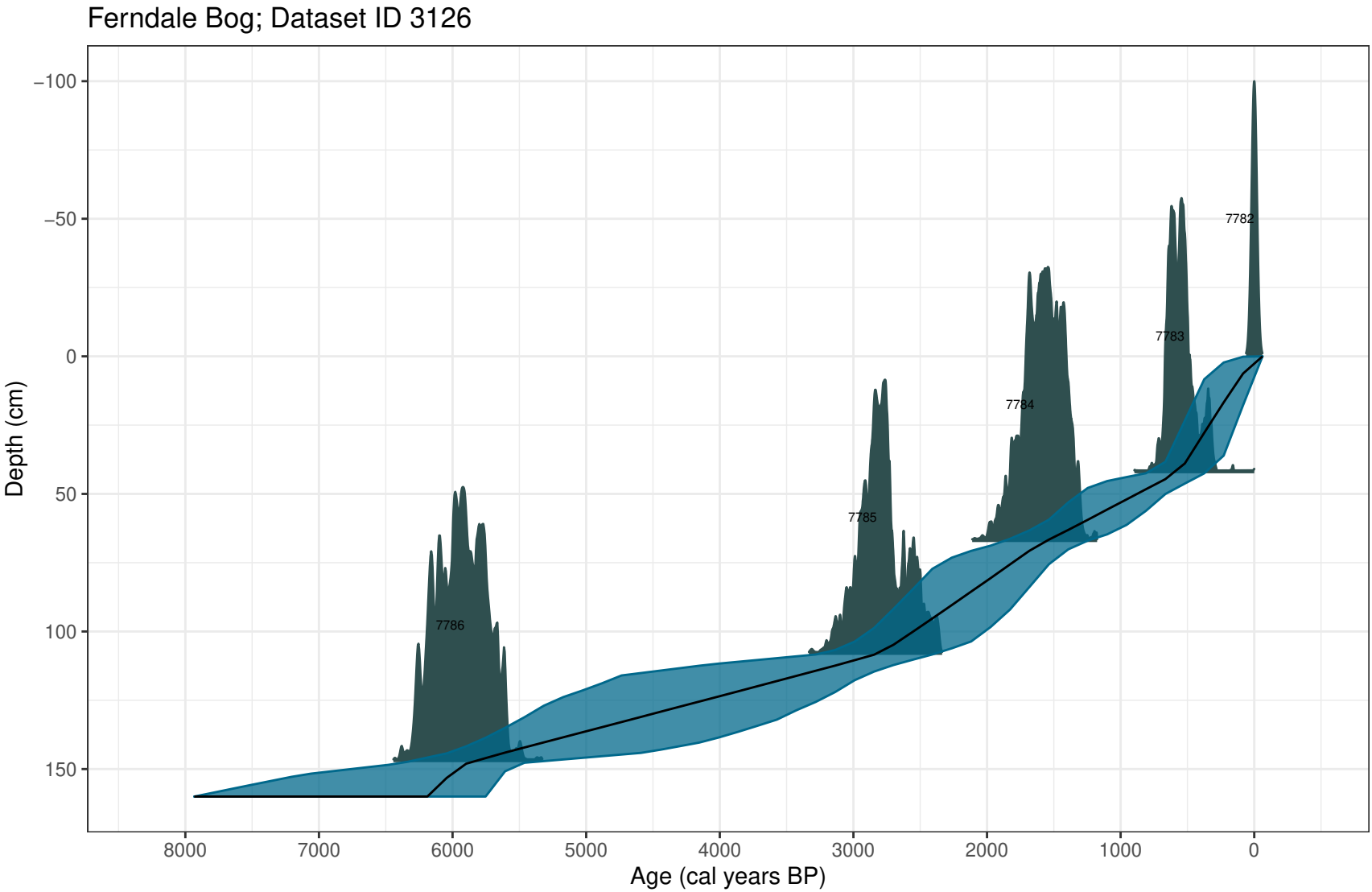
Ferndale Bog; Dataset ID 3126
Depth (cm)
−100
−50
0
50
100
150
Age (cal years BP)
8000
7000
6000
5000
4000
3000
2000
1000
0
7786
7785
7784
7783
7782

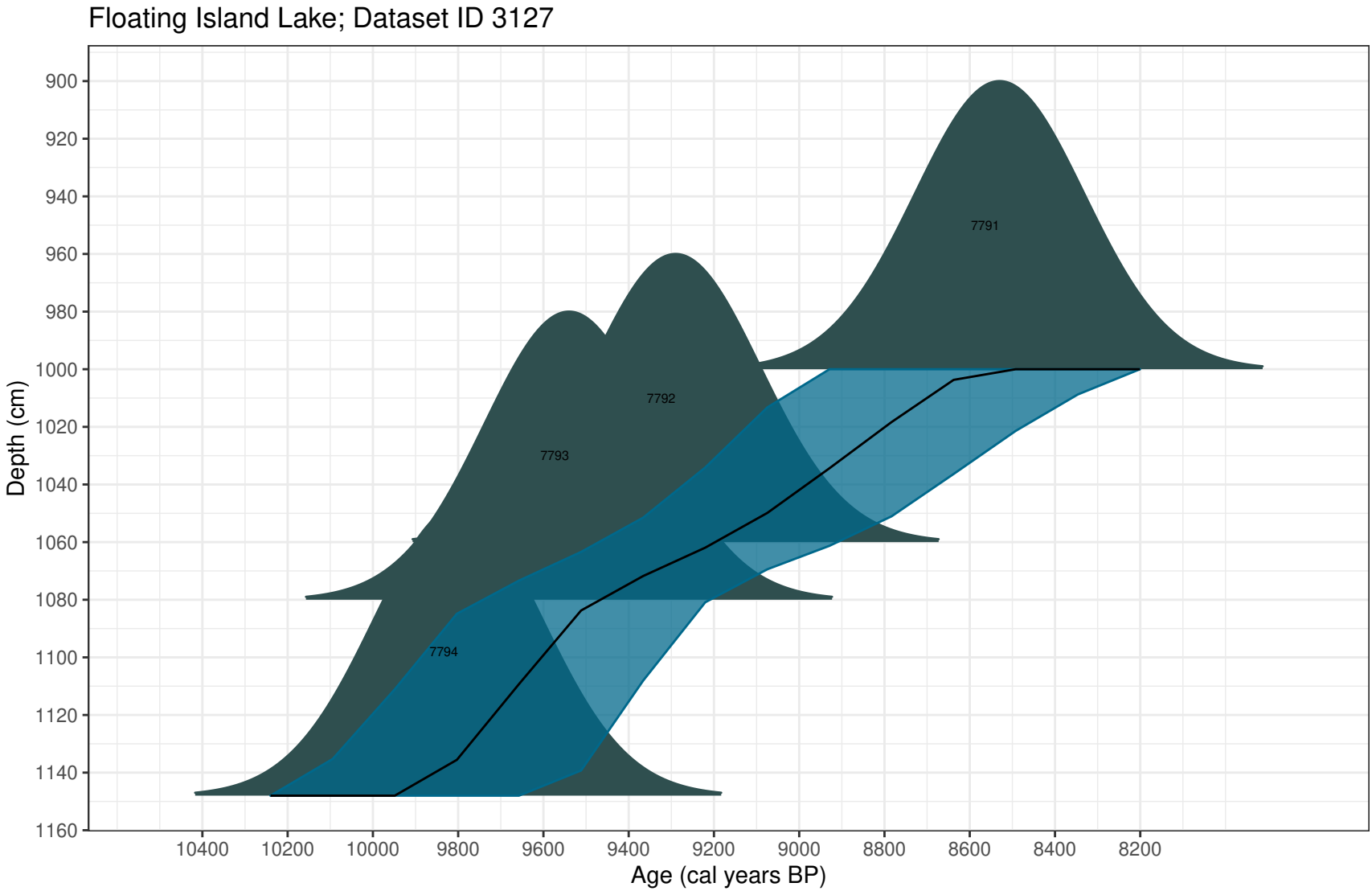
Floating Island Lake; Dataset ID 3127
Depth (cm)
900
920
940
960
980
1000
1020
1040
1060
1080
1100
1120
1140
1160
7791
7792
7793
7794
10400
10200
10000
9800
9600
9400
9200
9000
8800
8600
8400
8200
Age (cal years BP)

Heart Lake; Dataset ID 3130

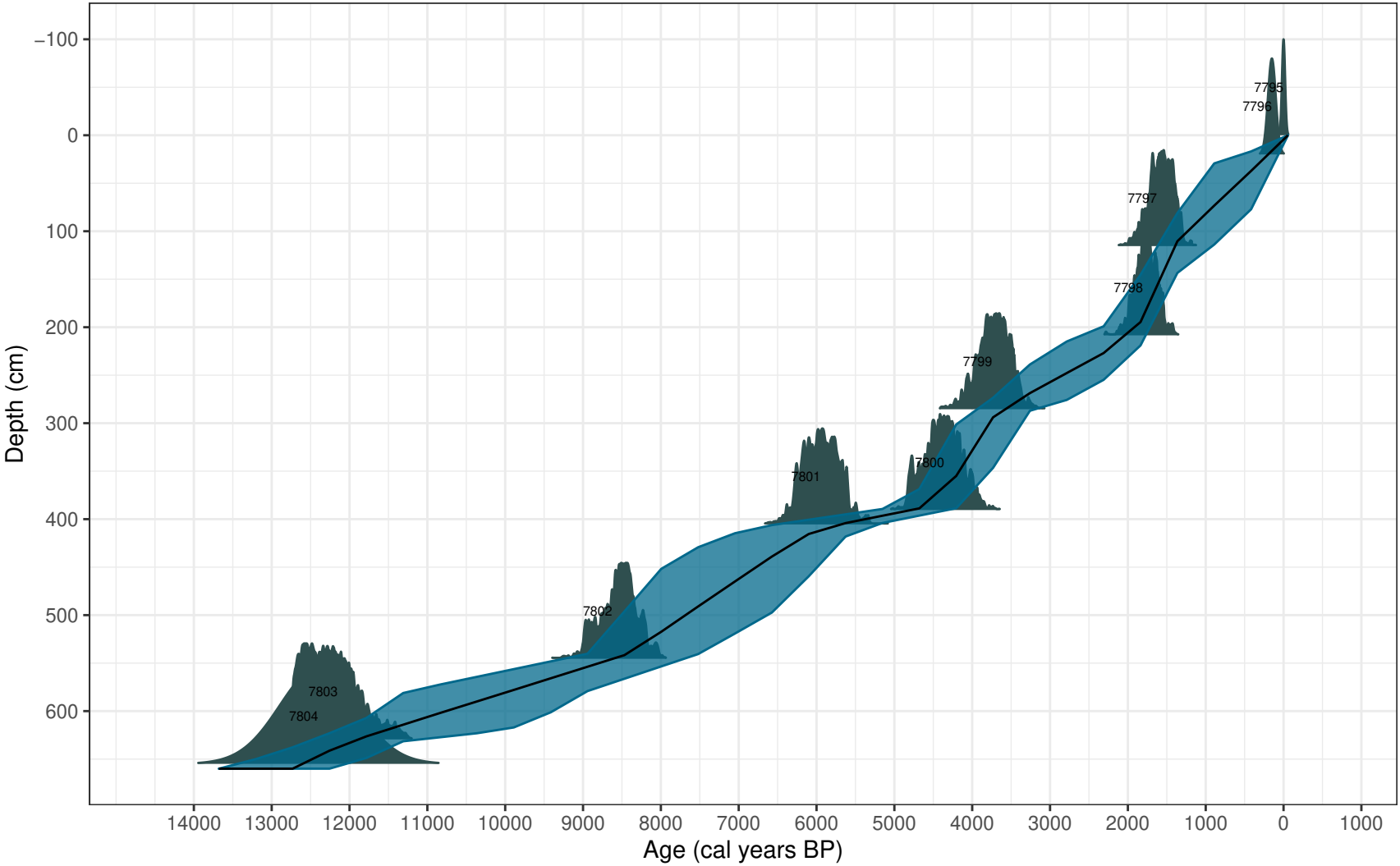

Hells Kitchen Lake; Dataset ID 3131

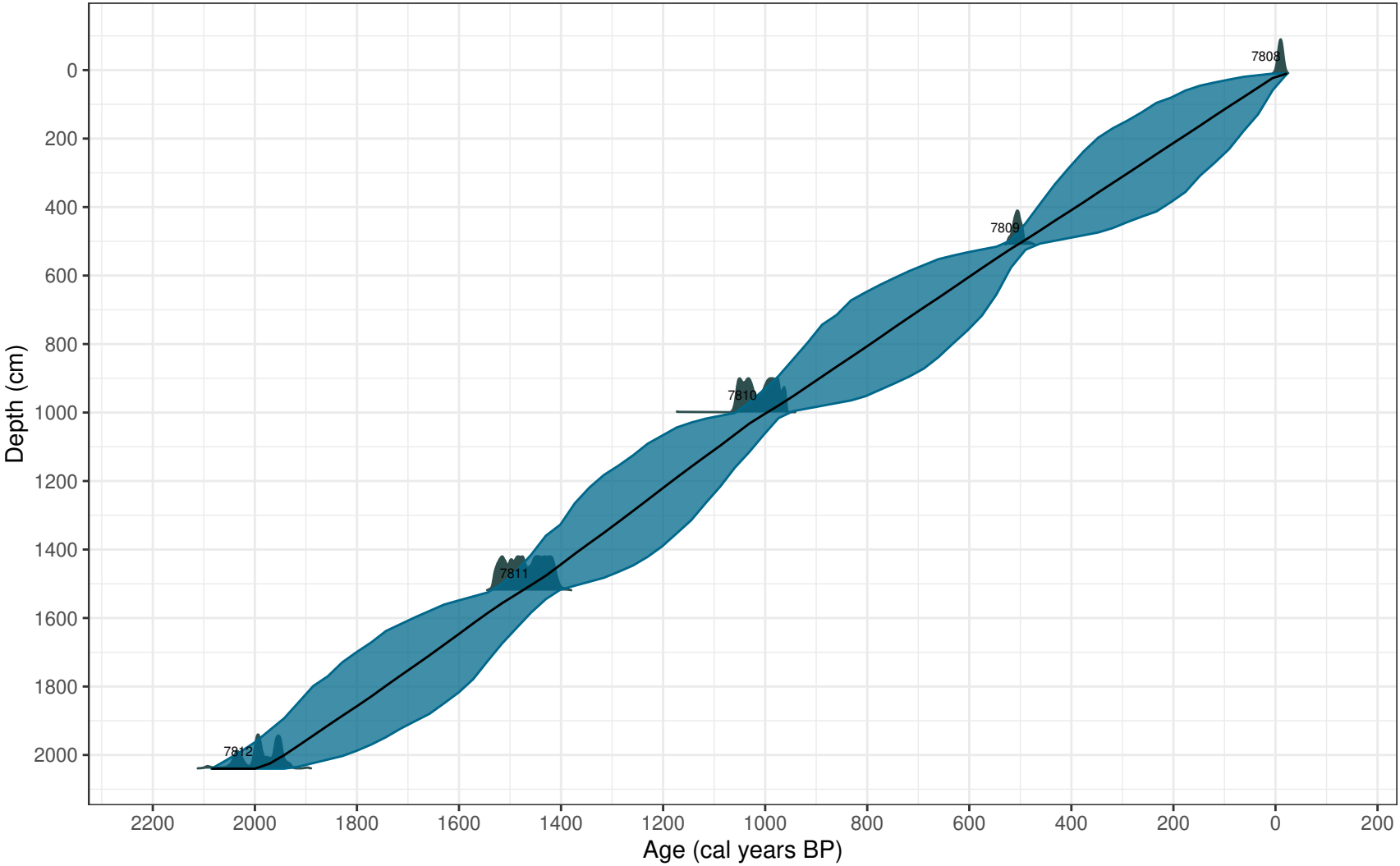

Hershop Bog; Dataset ID 3132

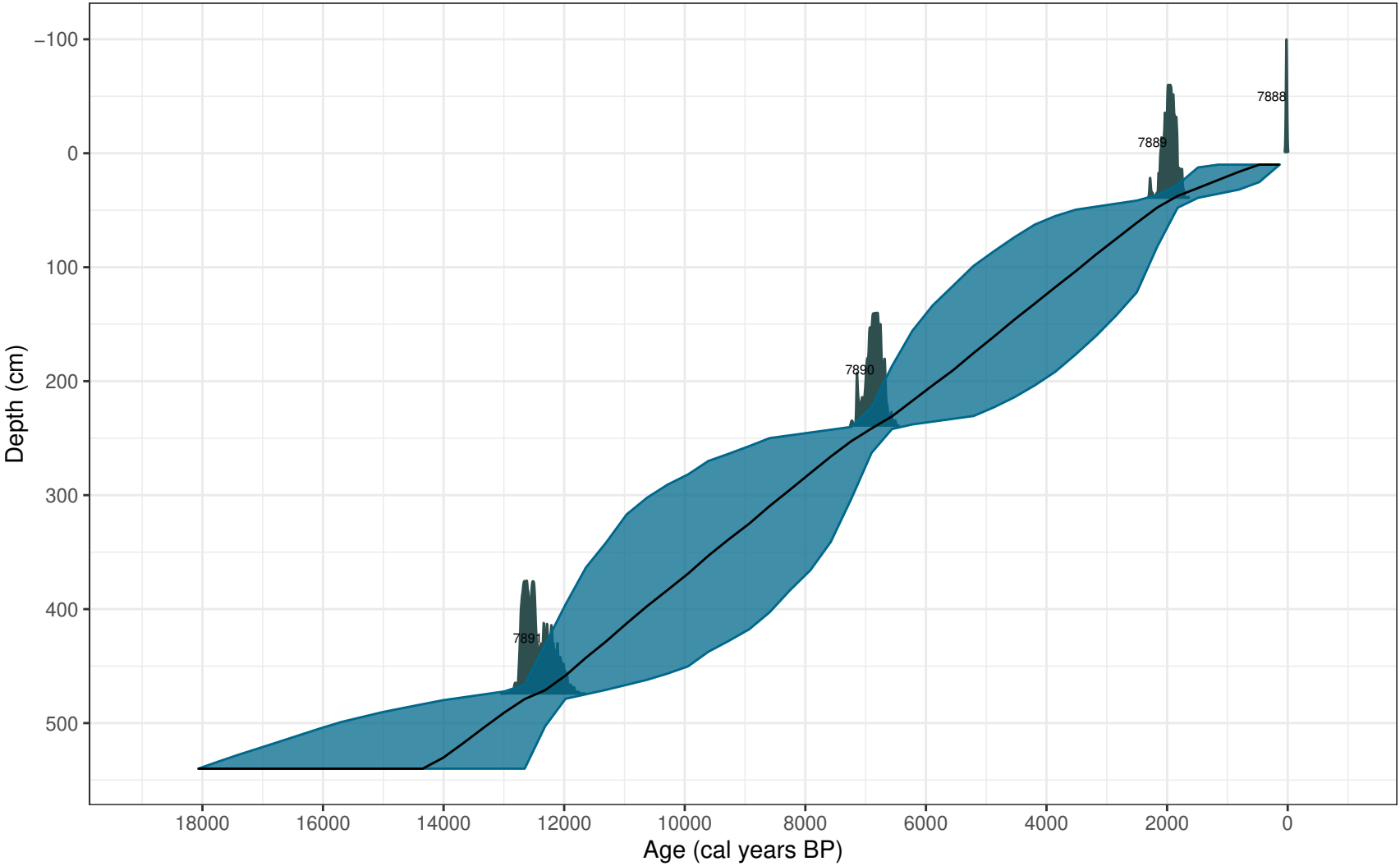

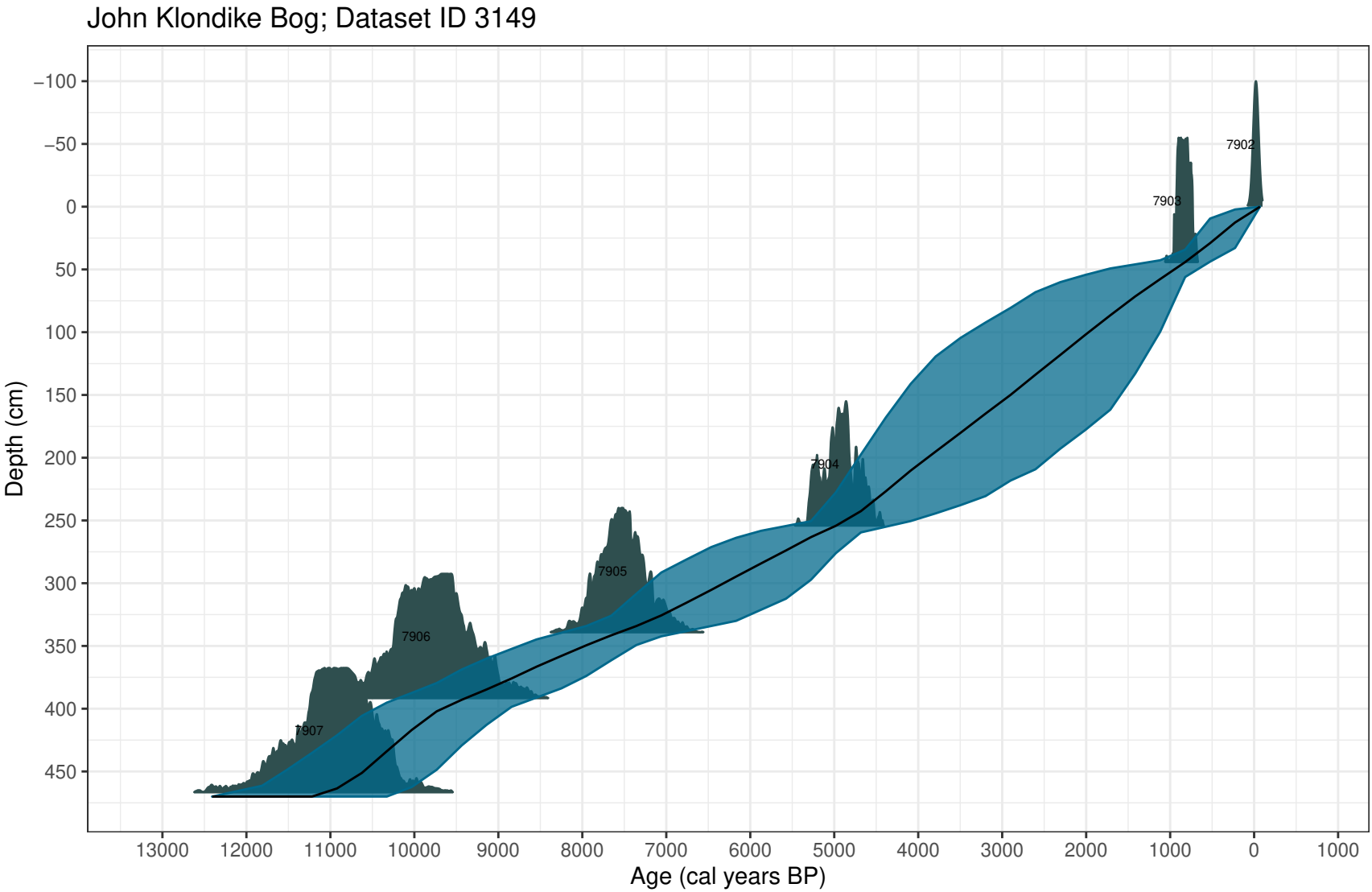
John Klondike Bog; Dataset ID 3149
Depth (cm)
−100
−50
0
50
100
150
200
250
300
350
400
450
Age (cal years BP)
13000
12000
11000
10000
9000
8000
7000
6000
5000
4000
3000
2000
1000
0
1000
7902
7903
7904
7905
7906
7907

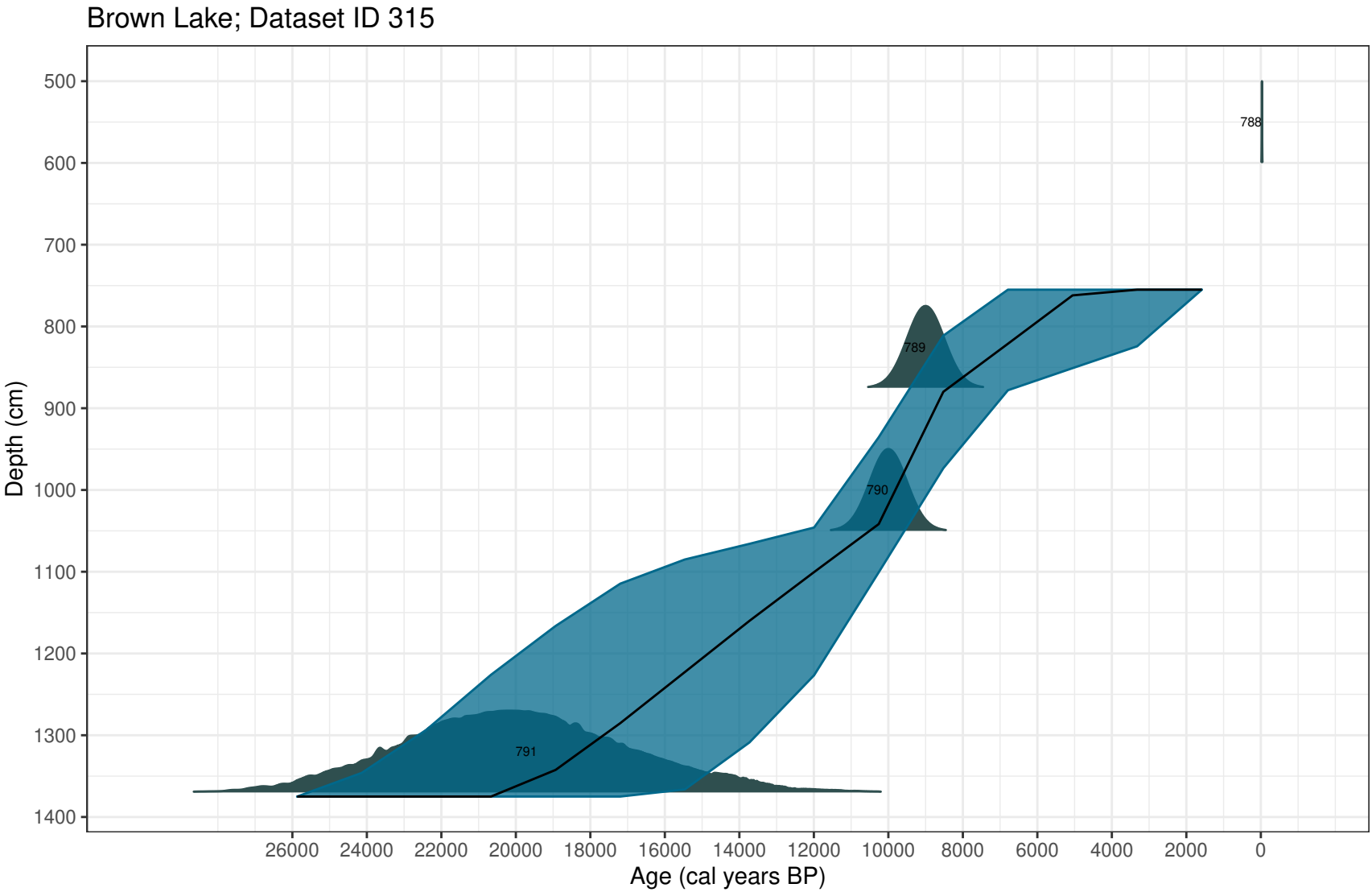
Brown Lake; Dataset ID 315
Depth (cm)
500
600
700
800
900
1000
1100
1200
1300
1400
788
789
790
791
26000
24000
22000
20000
18000
16000
14000
12000
10000
8000
6000
4000
2000
0
Age (cal years BP)

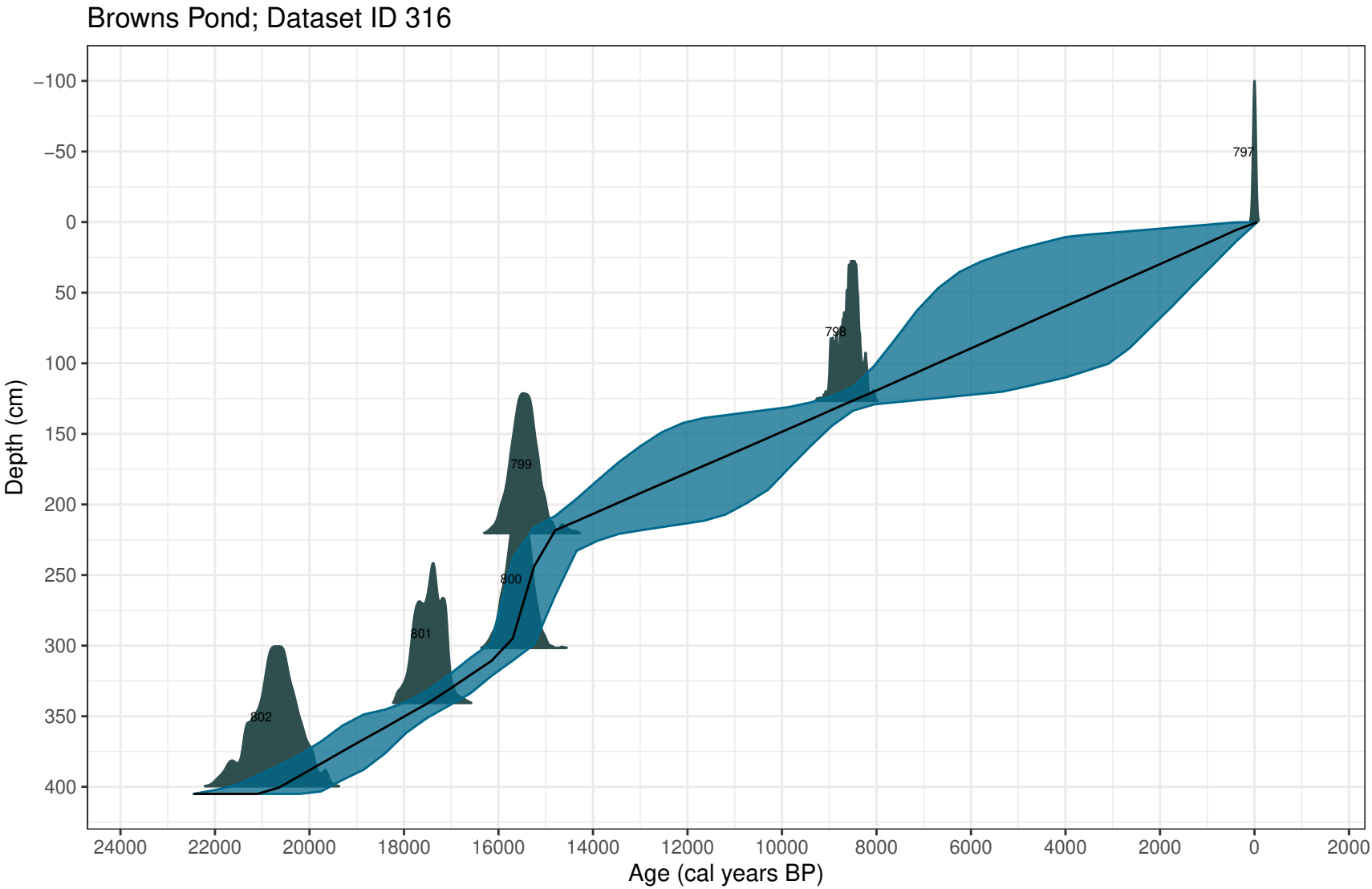
Browns Pond; Dataset ID 316
Depth (cm)
−100
−50
0
50
100
150
200
250
300
350
400
Age (cal years BP)
24000
22000
20000
18000
16000
14000
12000
10000
8000
6000
4000
2000
0
2000
797
798
799
800
801
802

Buckbean Fen; Dataset ID 318

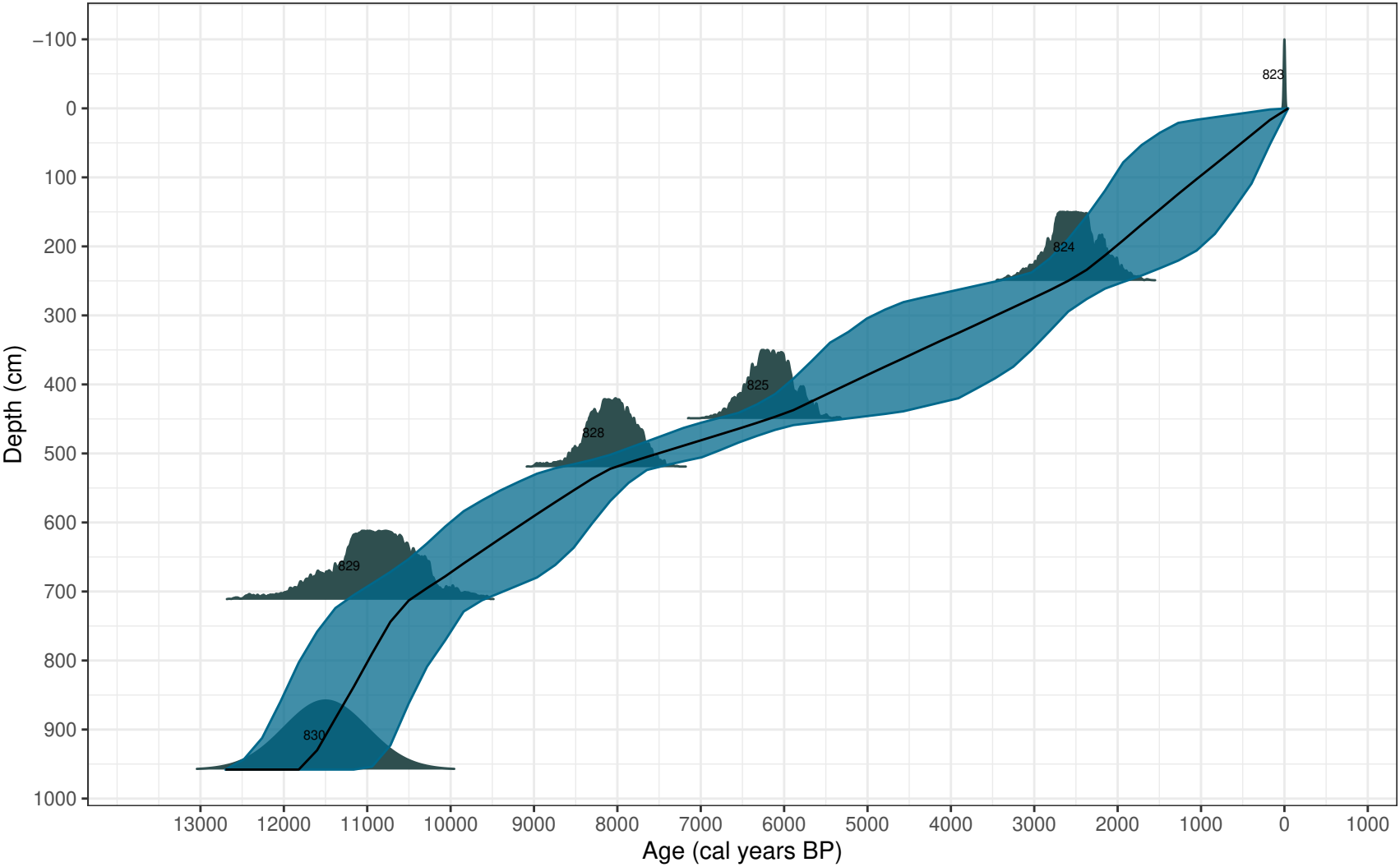

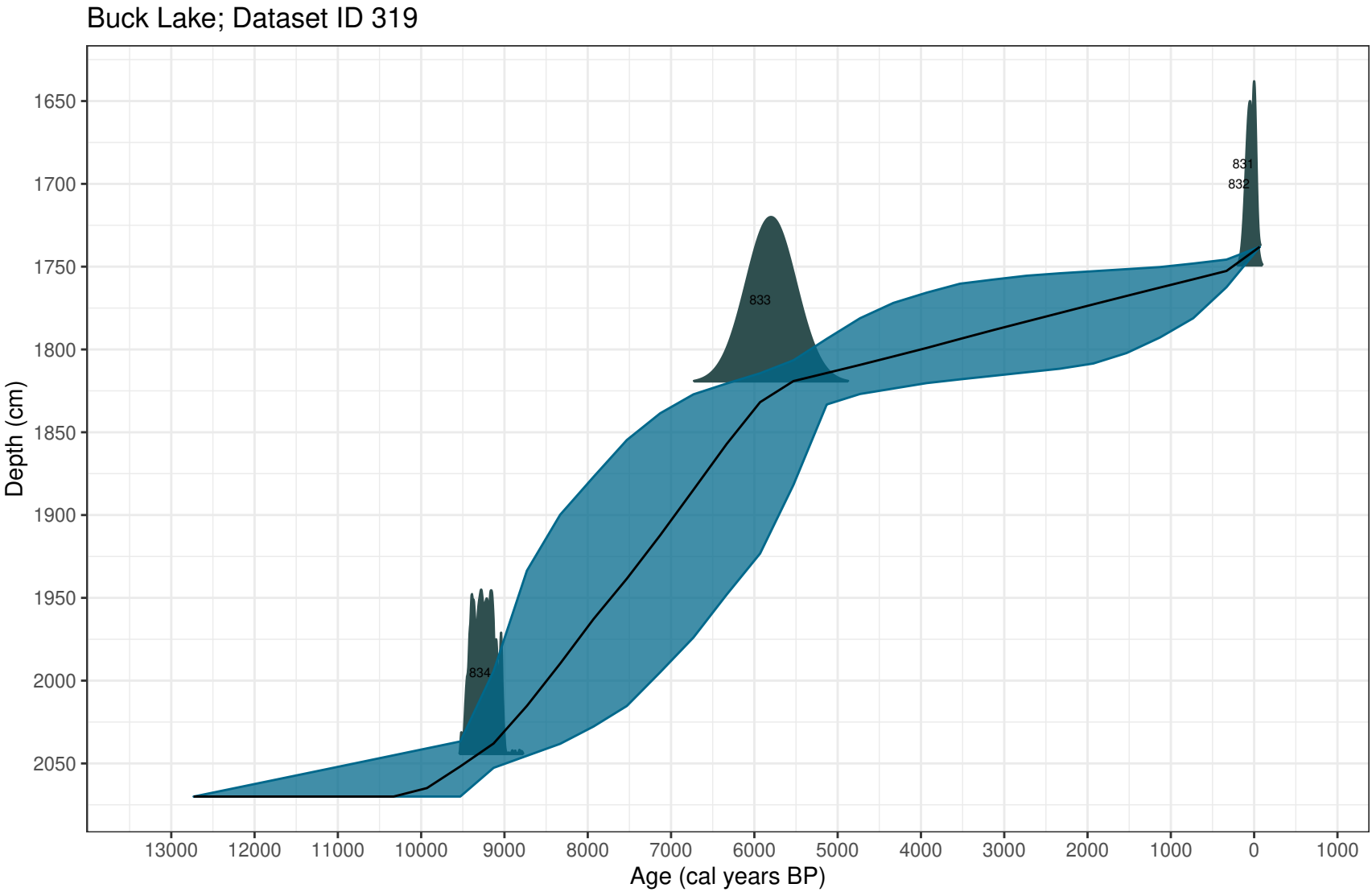
Buck Lake; Dataset ID 319
Depth (cm)
1650
1700
1750
1800
1850
1900
1950
2000
2050
831
832
833
834
13000
12000
11000
10000
9000
8000
7000
6000
5000
4000
3000
2000
1000
0
1000
Age (cal years BP)

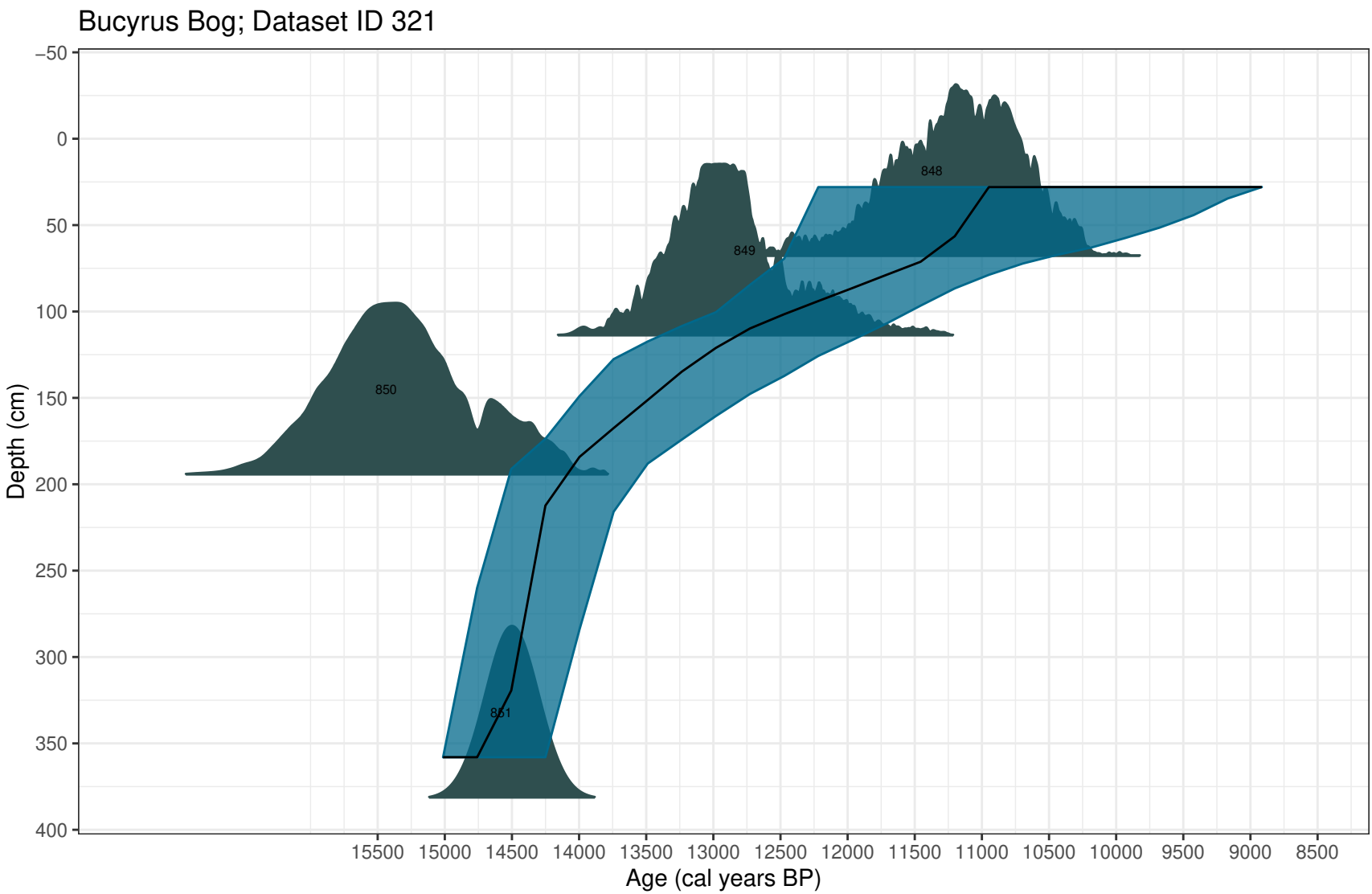
Bucyrus Bog; Dataset ID 321
Depth (cm)
−50
0
50
100
150
200
250
300
350
400
848
849
850
851
15500
15000
14500
14000
13500
13000
12500
12000
11500
11000
10500
10000
9500
9000
8500
Age (cal years BP)

Burden Lake; Dataset ID 324

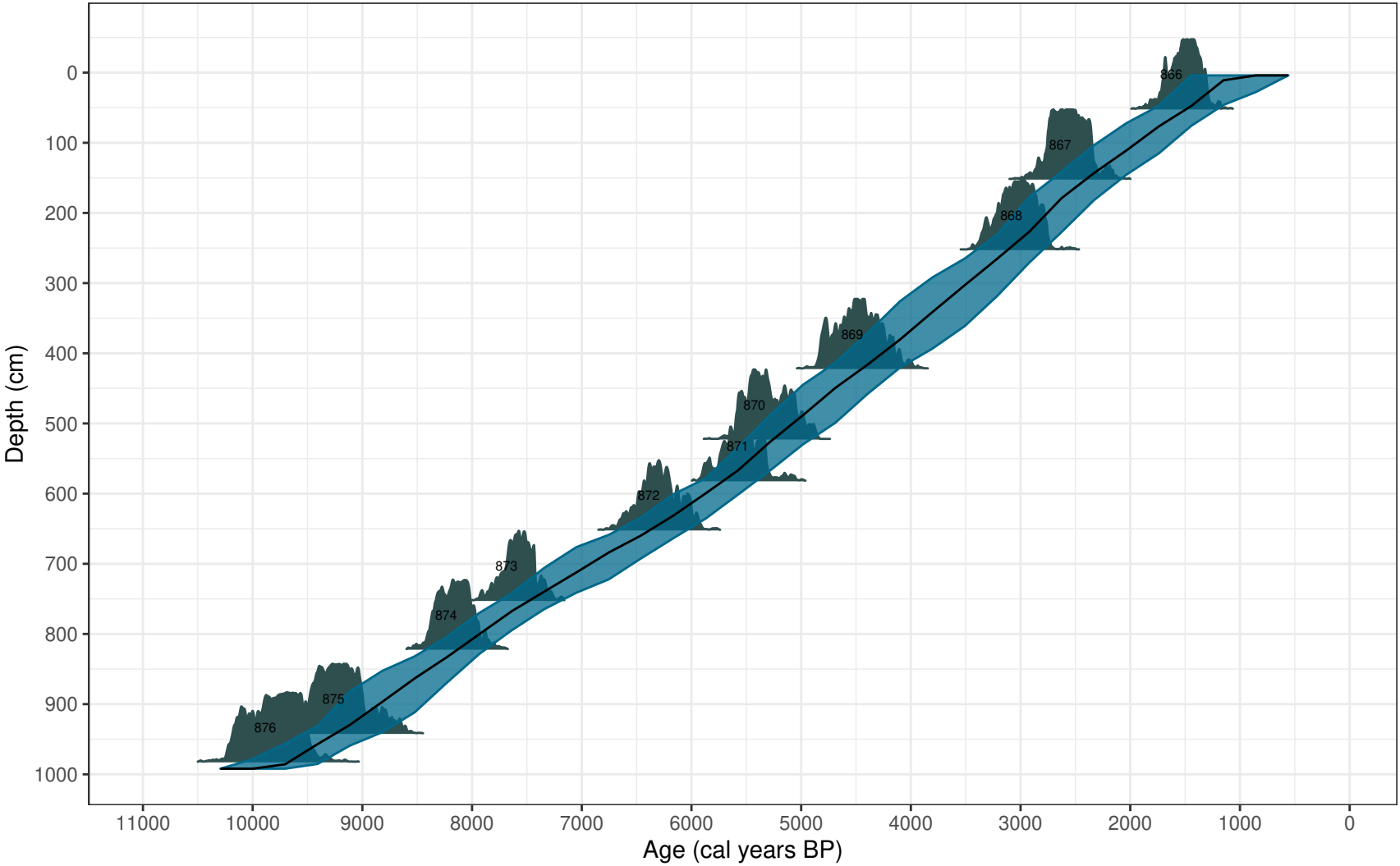

Lac à la Busque; Dataset ID 326

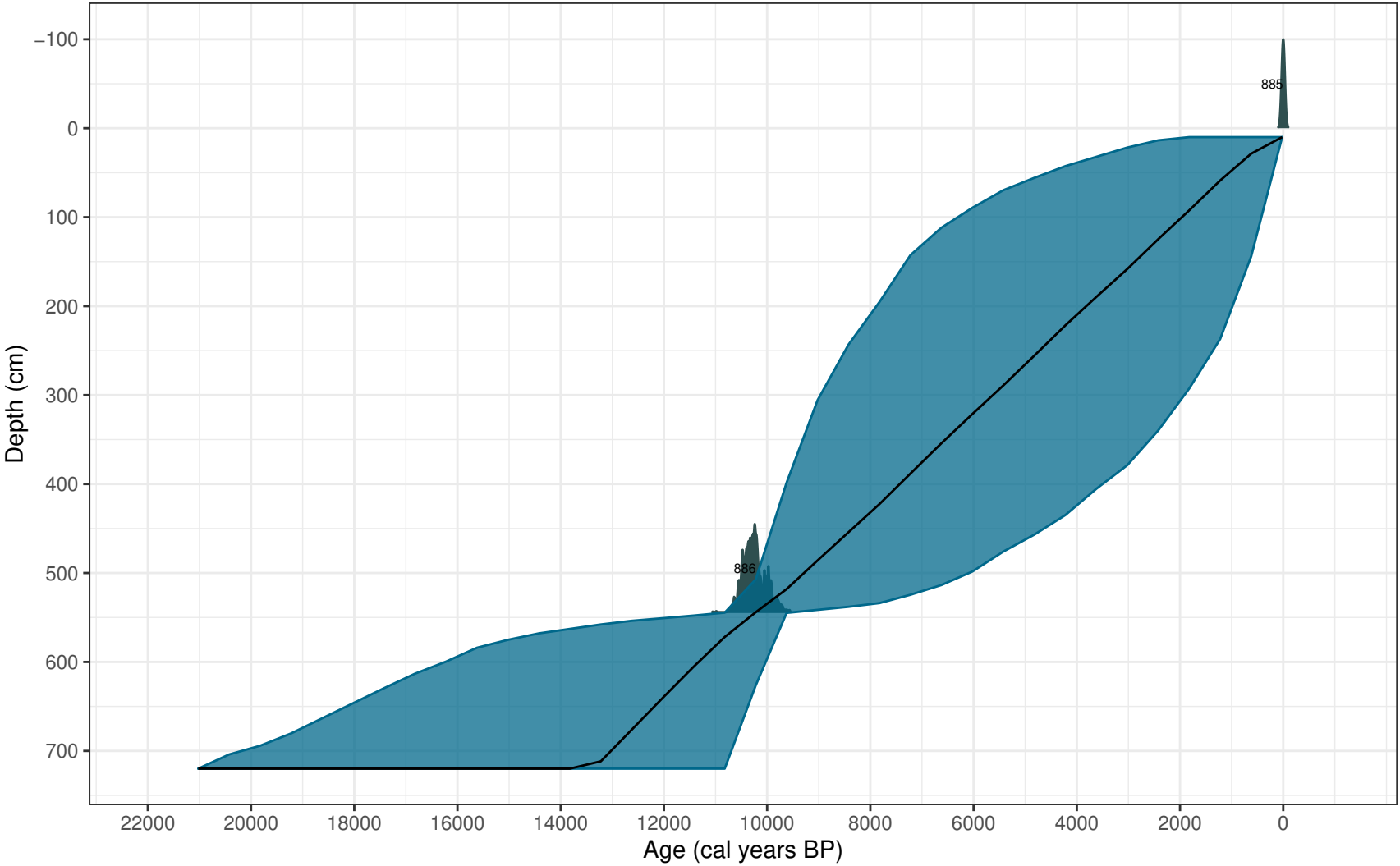

Saint−Calixte; Dataset ID 329

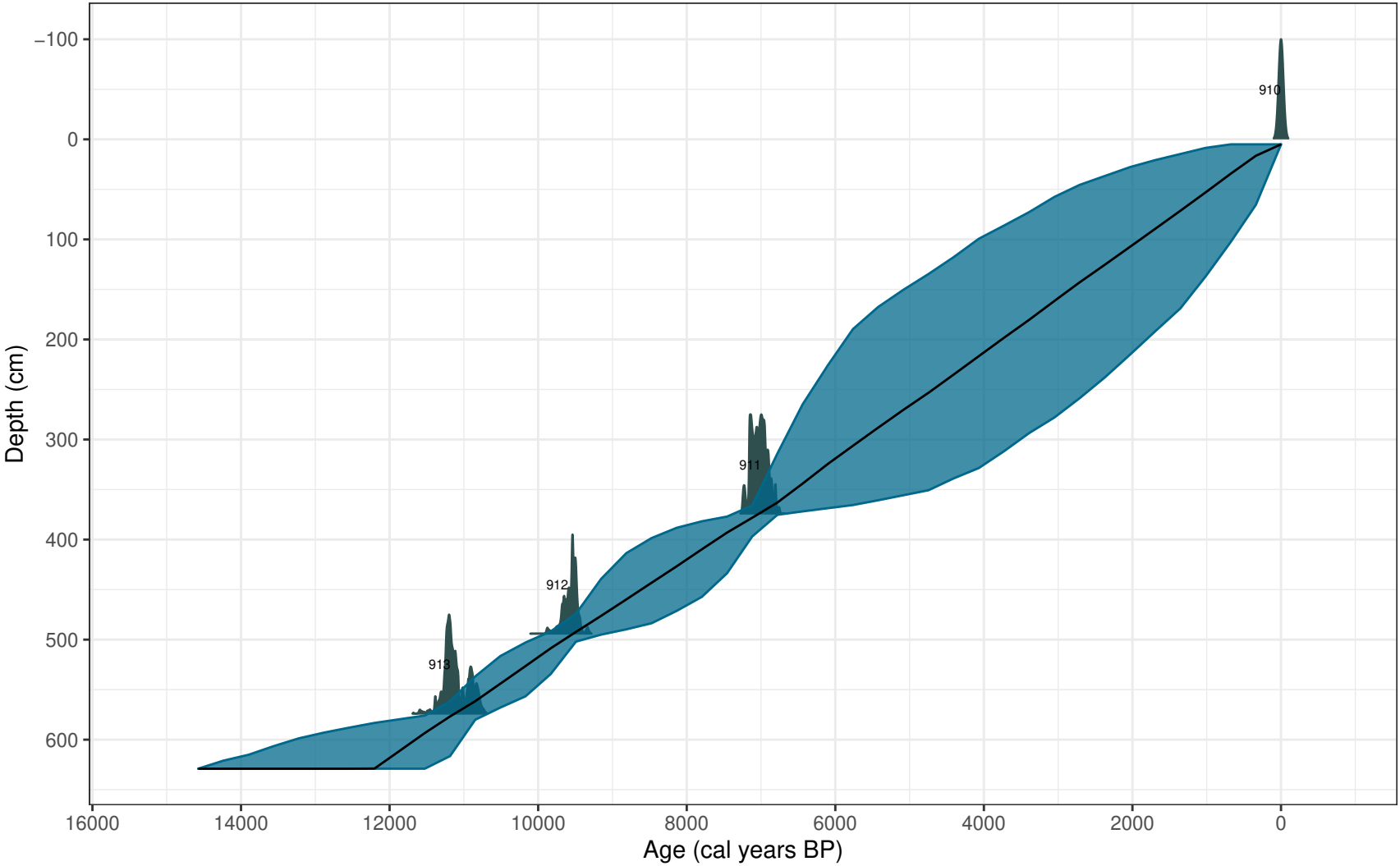

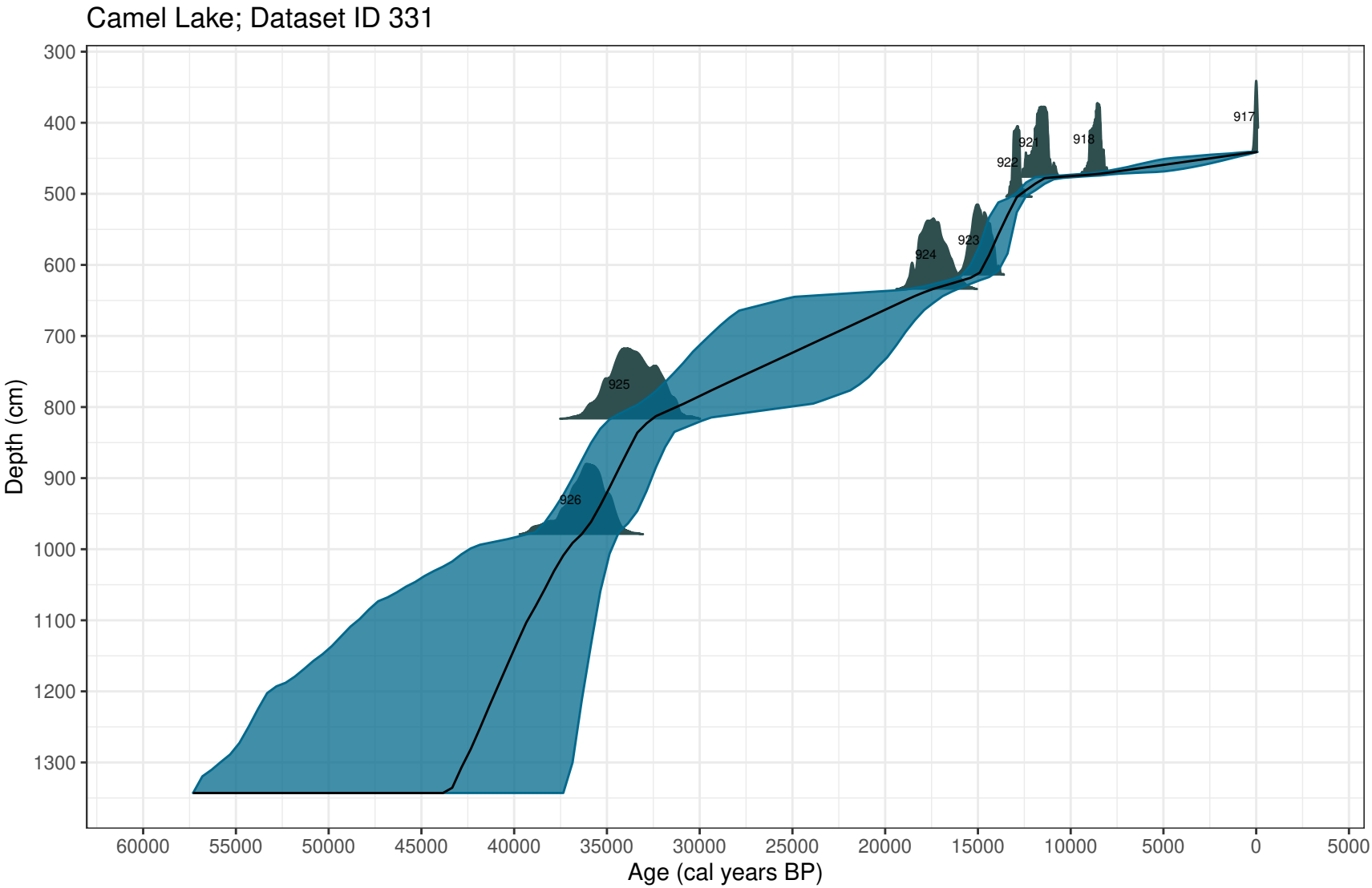
Camel Lake; Dataset ID 331
Depth (cm)
300
400
500
600
700
800
900
1000
1100
1200
1300
Age (cal years BP)
60000
55000
50000
45000
40000
35000
30000
25000
20000
15000
10000
5000
0
5000
917
918
922
923
924
925
926

Carbuncle Pond; Dataset ID 338

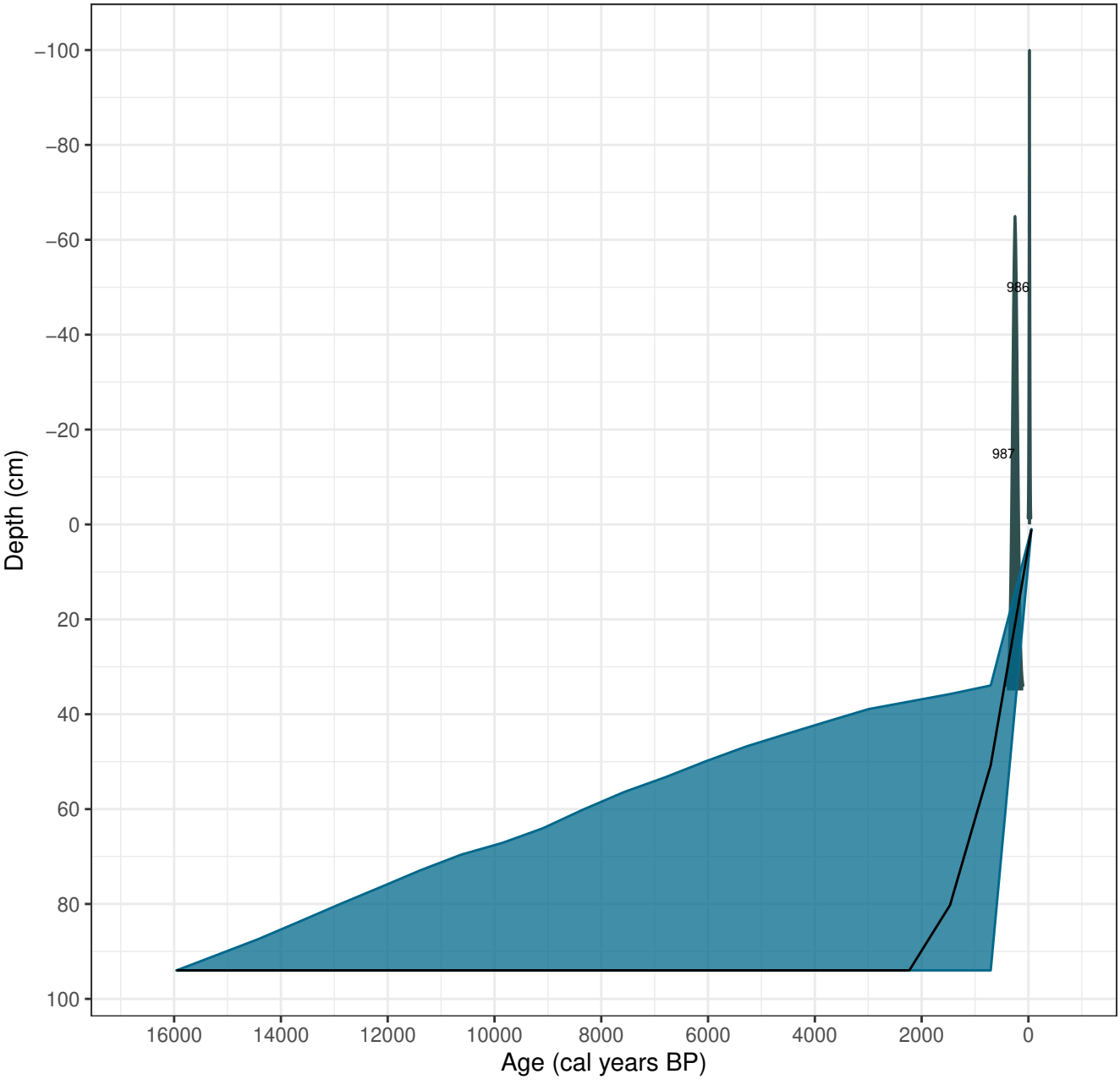

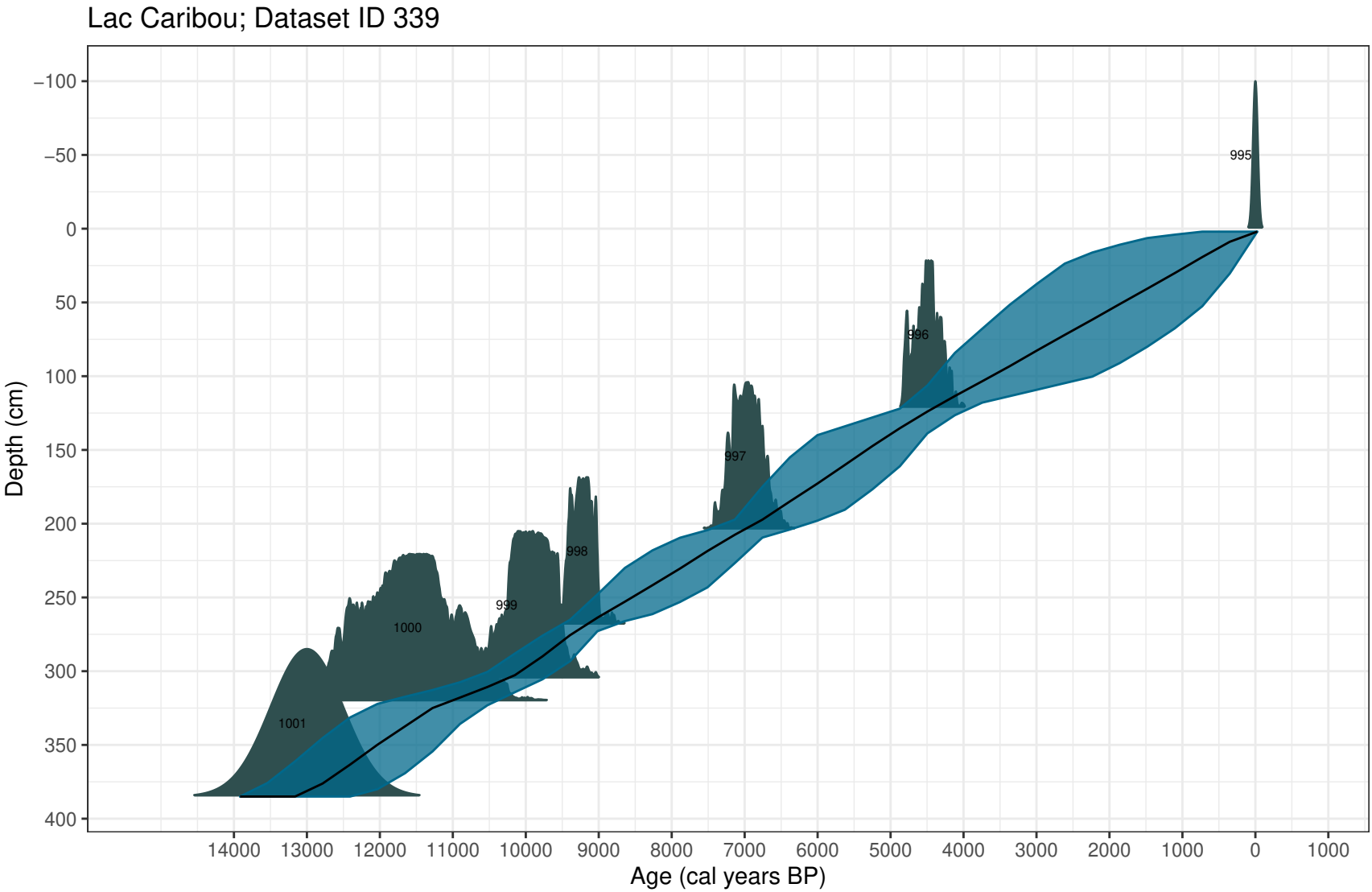
Lac Caribou; Dataset ID 339
Depth (cm)
−100
−50
0
50
100
150
200
250
300
350
400
995
996
997
998
999
1000
1001
14000
13000
12000
11000
10000
9000
8000
7000
6000
5000
4000
3000
2000
1000
0
1000
Age (cal years BP)

Caribou Bog; Dataset ID 340

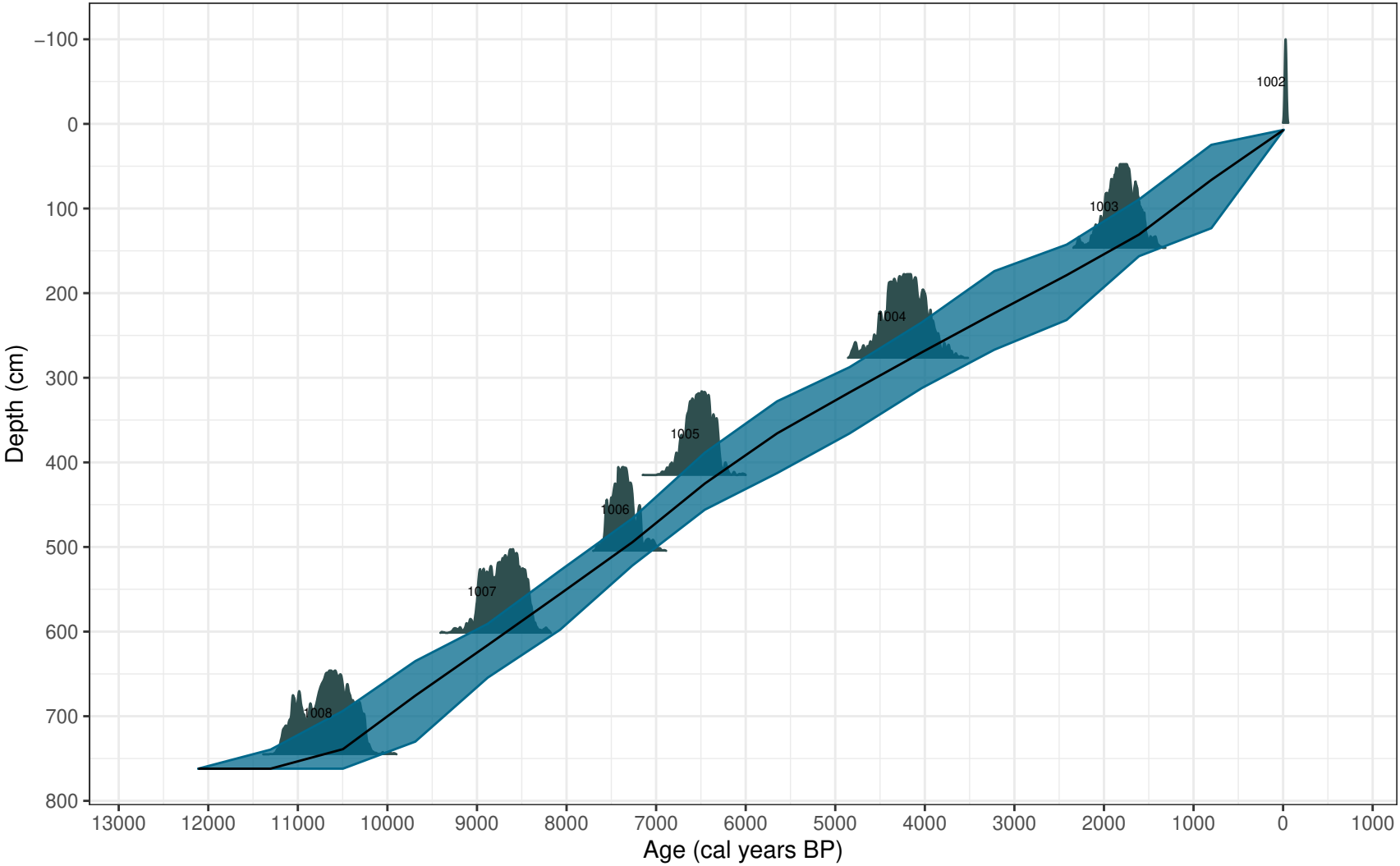

Caribou Hill; Dataset ID 341

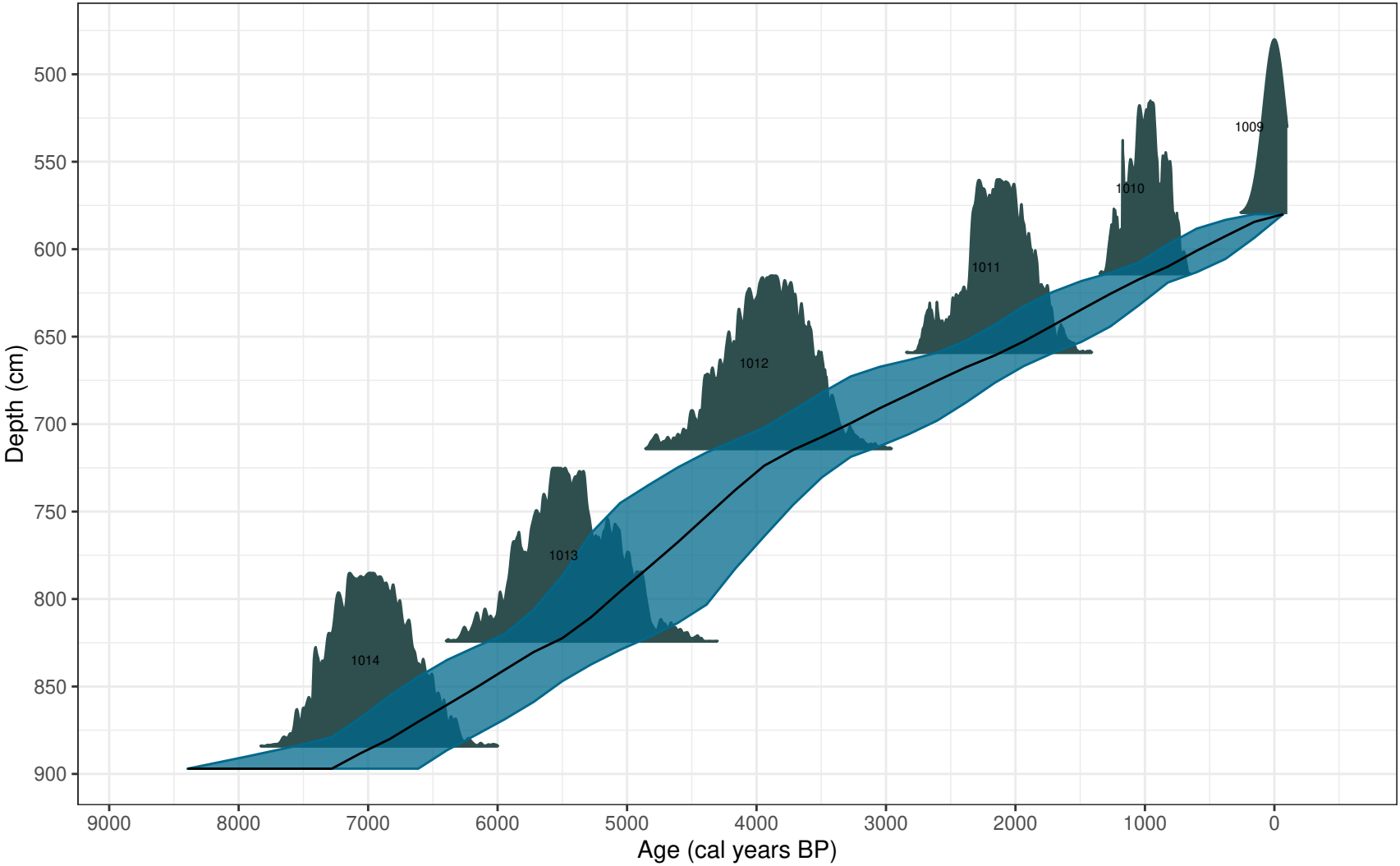

Carp Lake; Dataset ID 343

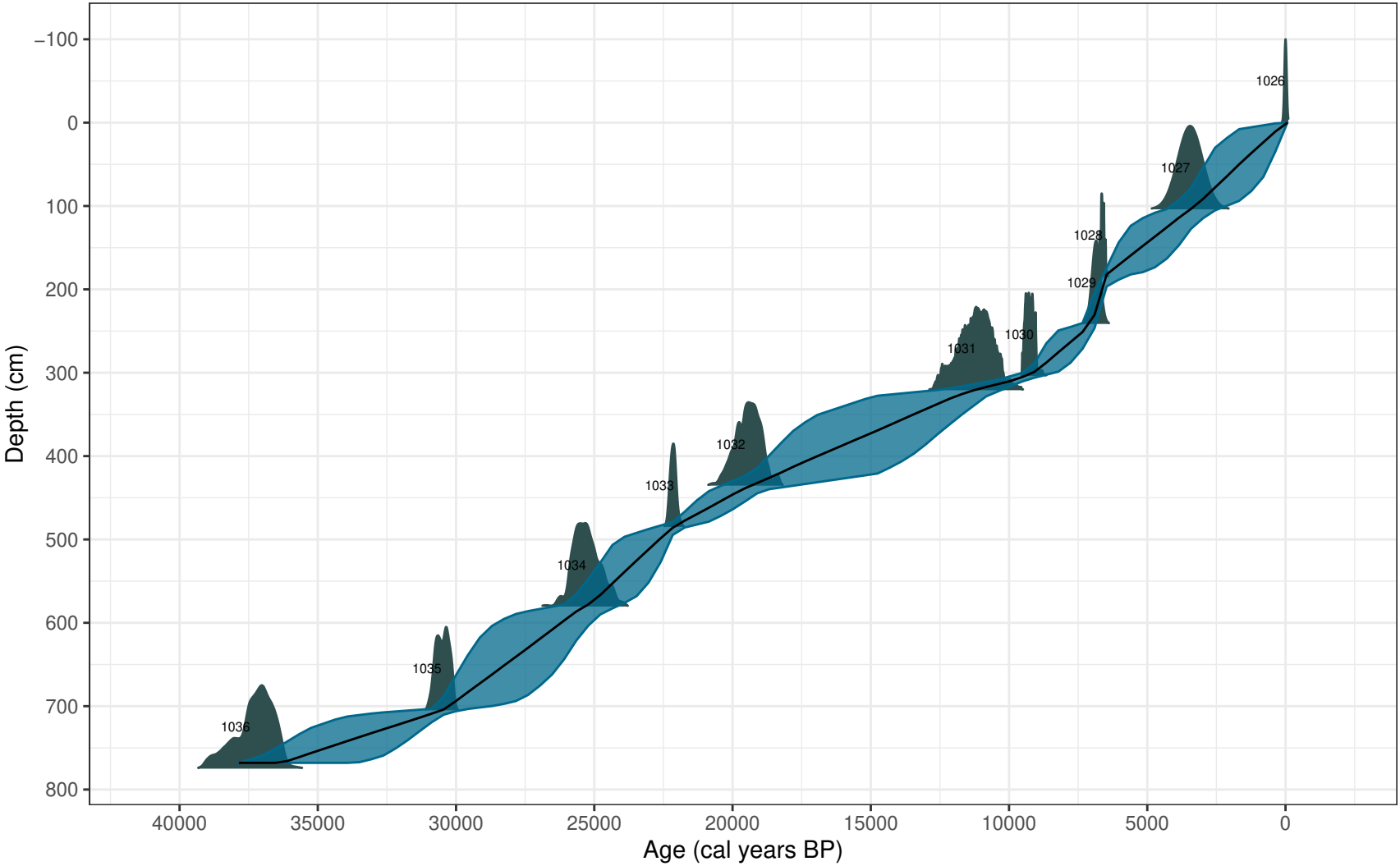

Carter Site; Dataset ID 345

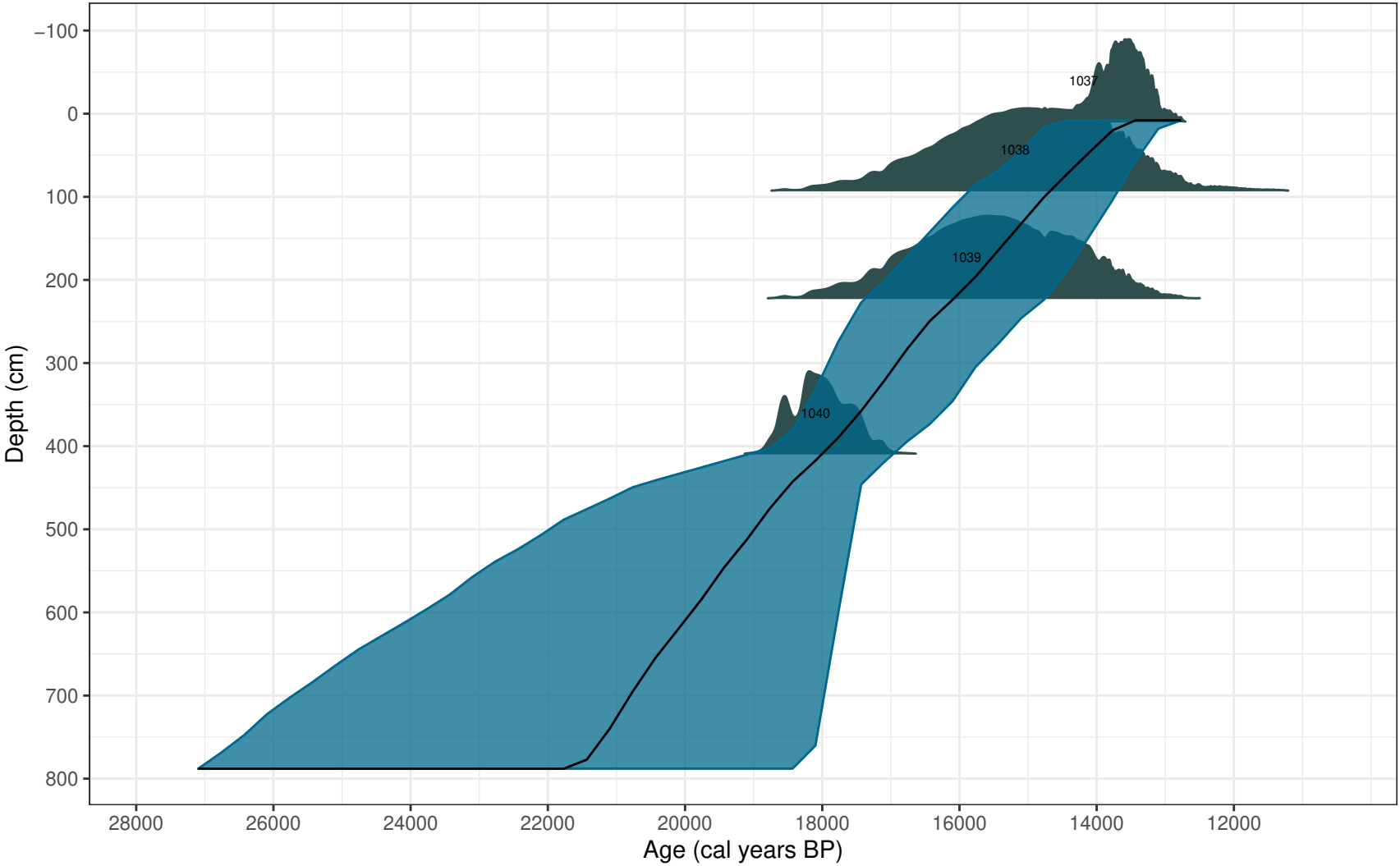

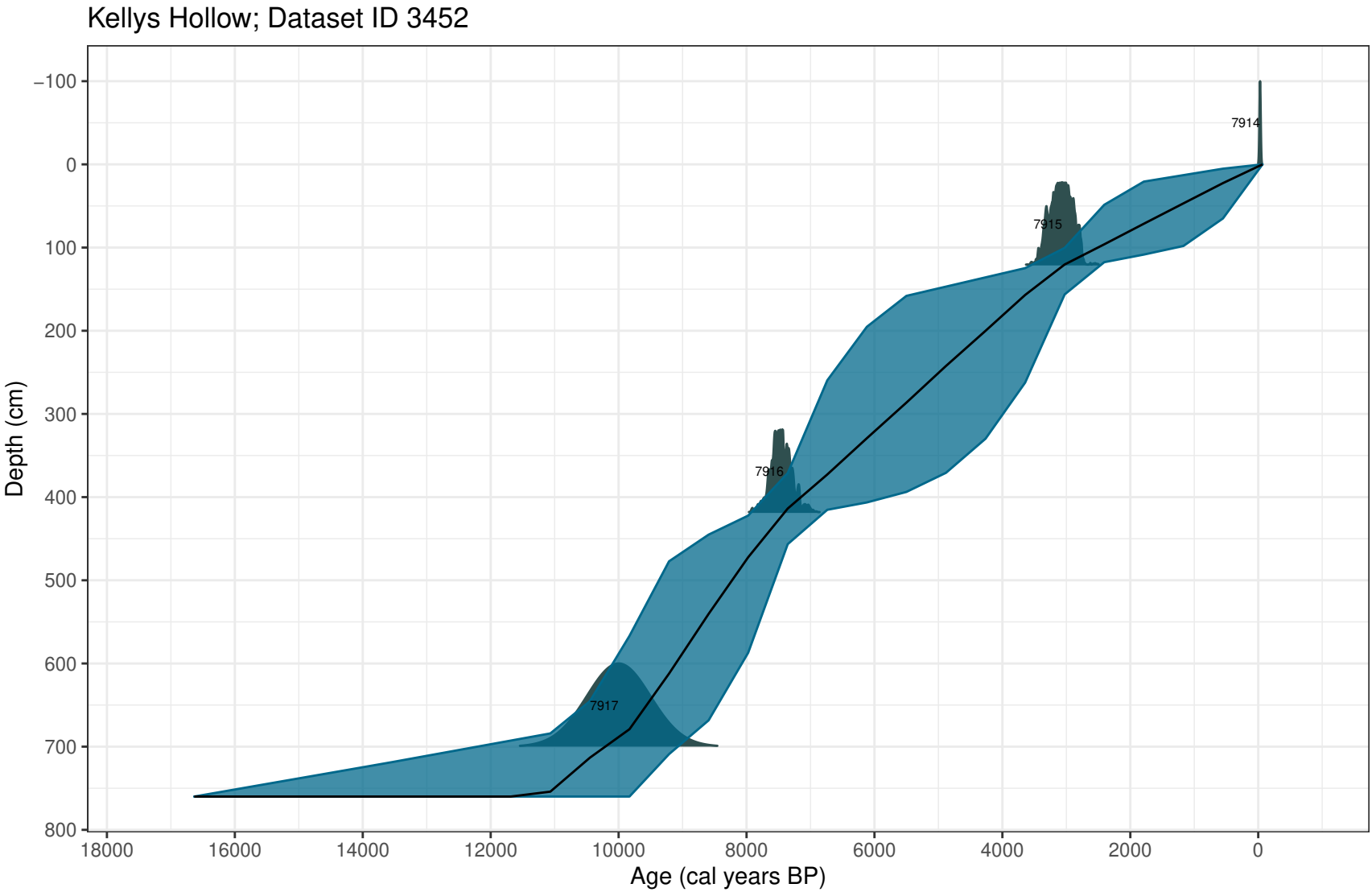
Kellys Hollow; Dataset ID 3452
Depth (cm)
−100
0
100
200
300
400
500
600
700
800
18000
16000
14000
12000
10000
8000
6000
4000
2000
0
Age (cal years BP)
7914
7915
7916
7917

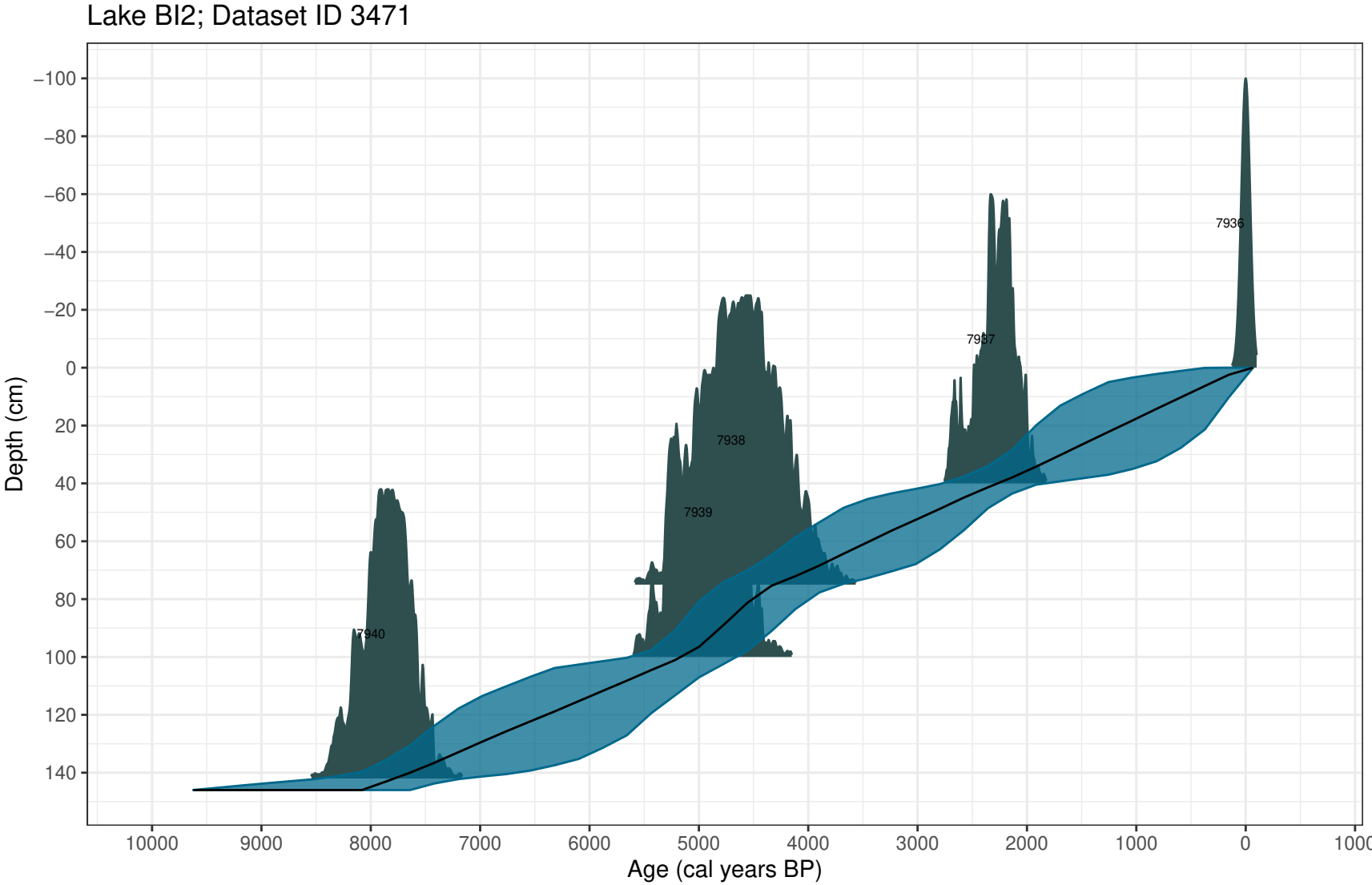
Lake BI2; Dataset ID 3471
Depth (cm)
−100
−80
−60
−40
−20
0
20
40
60
80
100
120
140
7936
7937
7938
7939
7940
10000
9000
8000
7000
6000
5000
4000
3000
2000
1000
0
1000
Age (cal years BP)

Lake of the Clouds; Dataset ID 3482

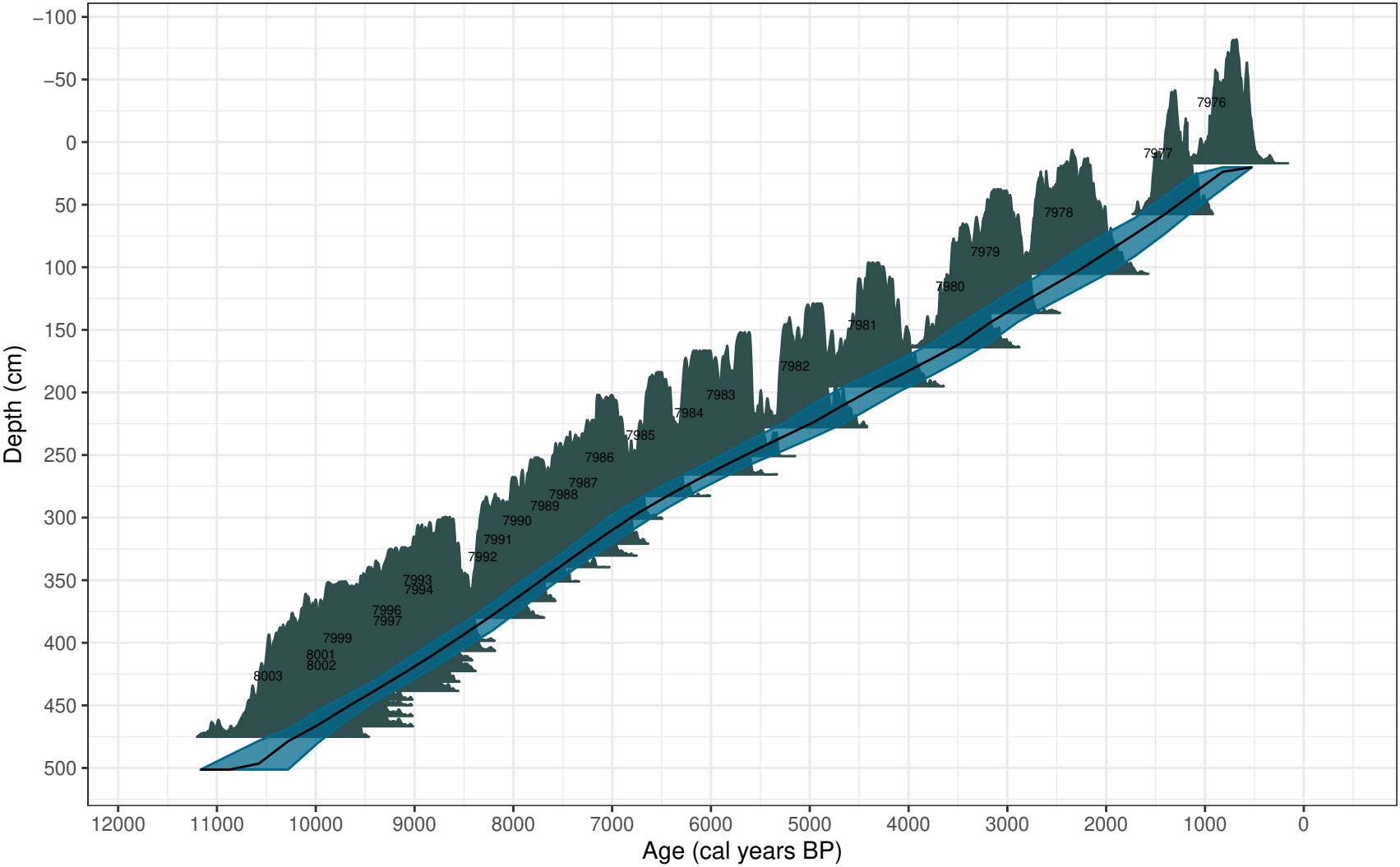

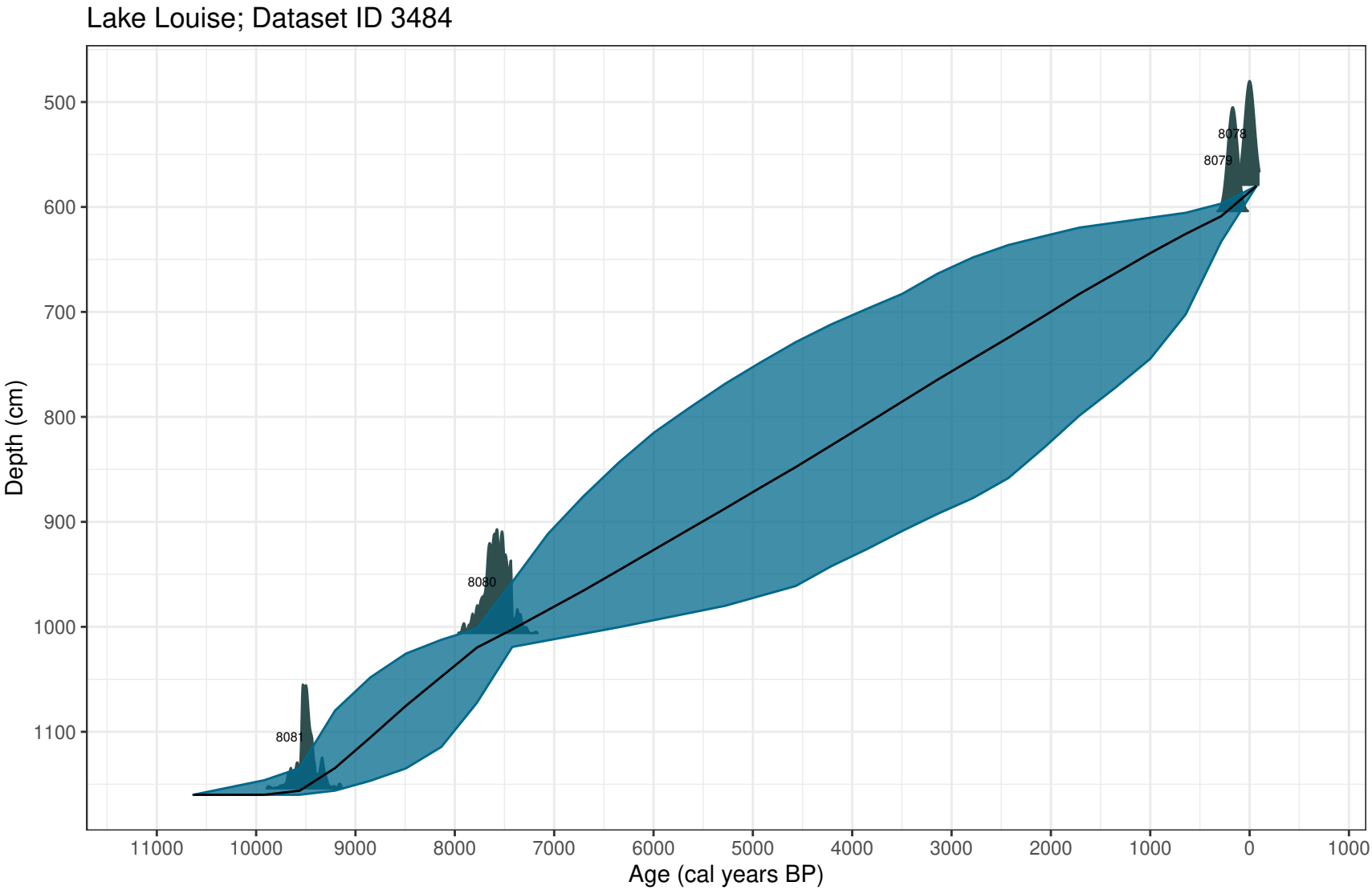
Lake Louise; Dataset ID 3484
Depth (cm)
500
600
700
800
900
1000
1100
8078
8079
8080
8081
11000
10000
9000
8000
7000
6000
5000
4000
3000
2000
1000
0
1000
Age (cal years BP)

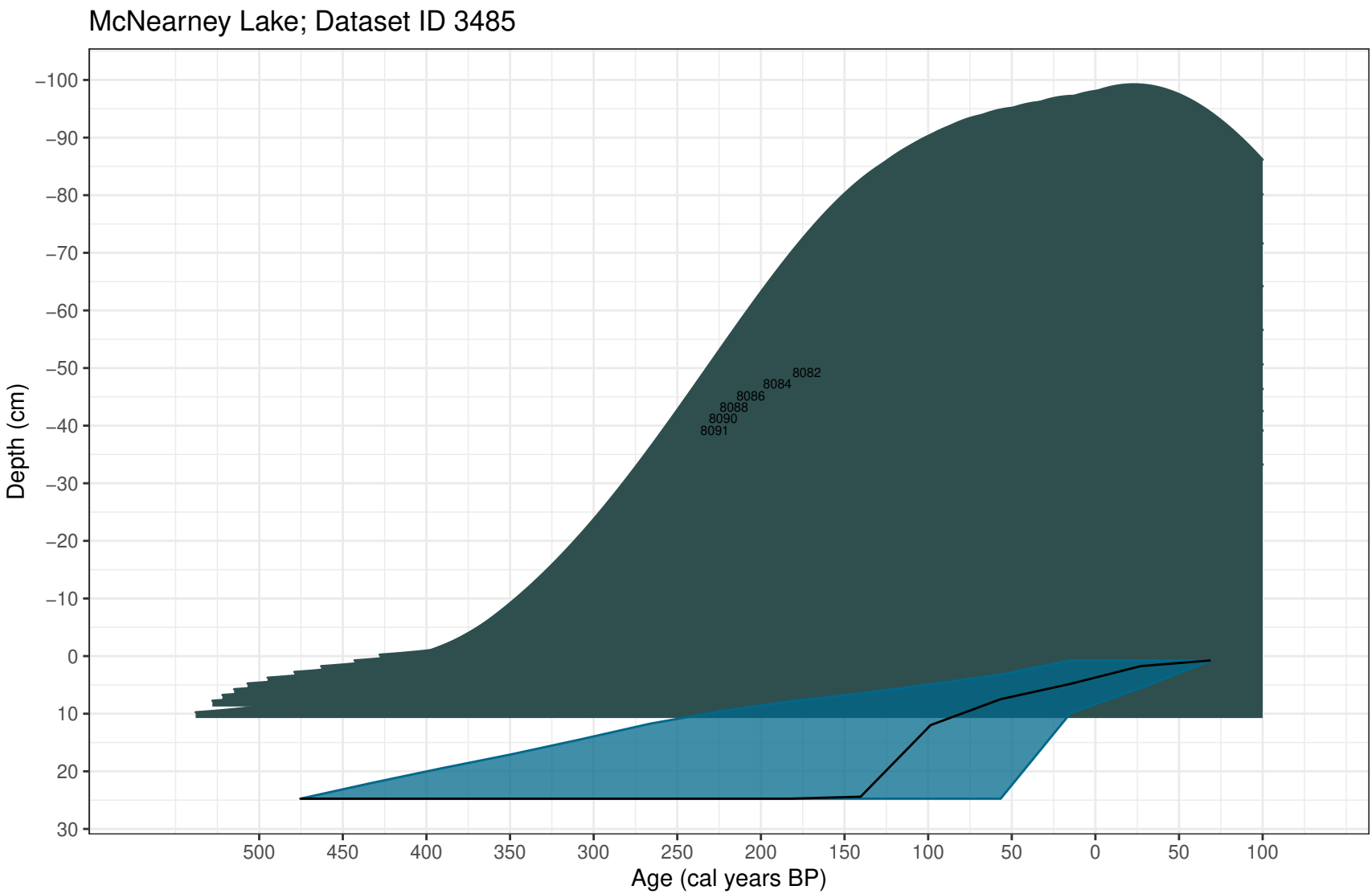
McNearney Lake; Dataset ID 3485
Depth (cm)
−100
−90
−80
−70
−60
−50
−40
−30
−20
−10
0
10
20
30
8082
8084
8086
8088
8090
8091
500
450
400
350
300
250
200
150
100
50
0
50
100
Age (cal years BP)

McNearney Lake; Dataset ID 3486

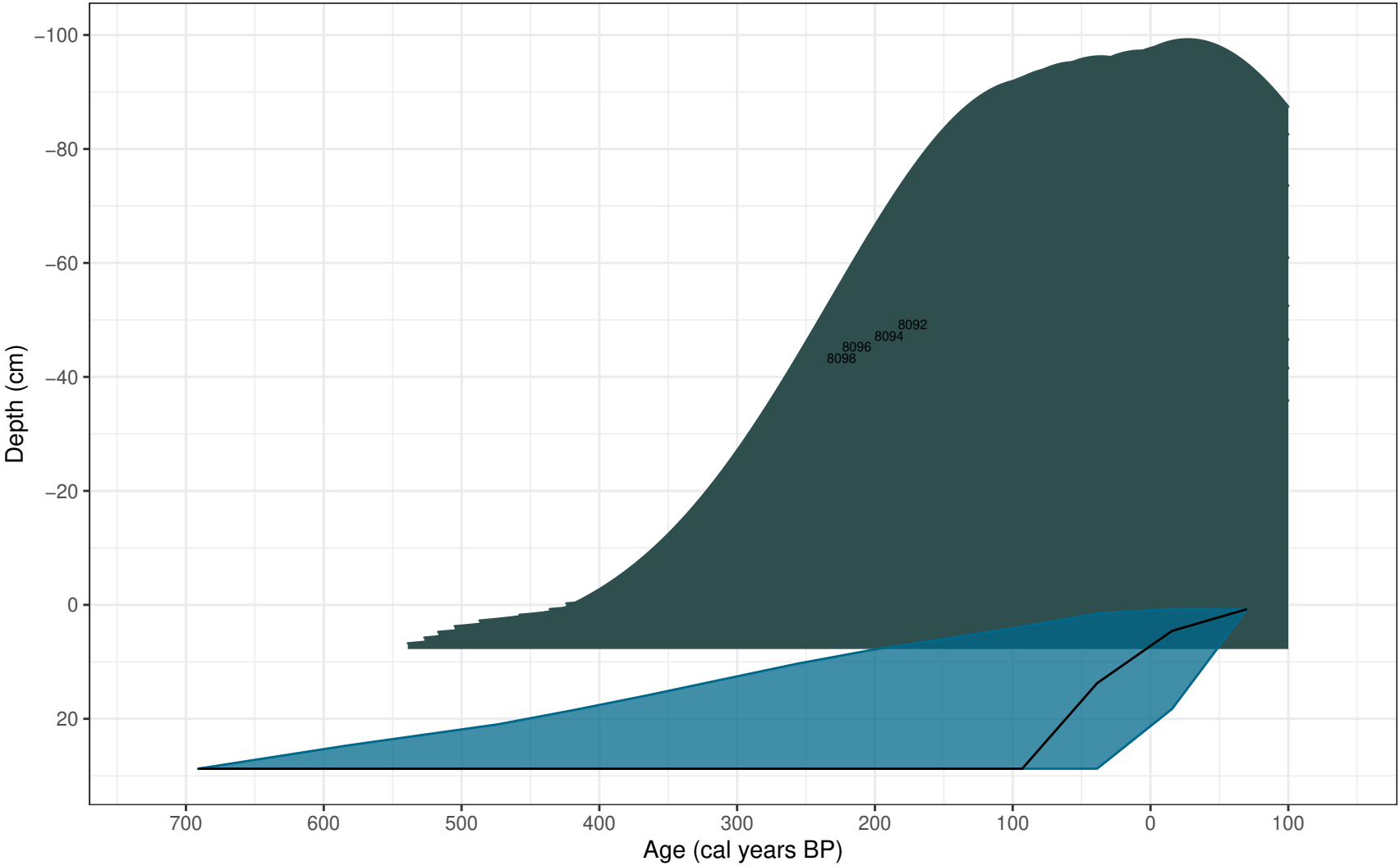

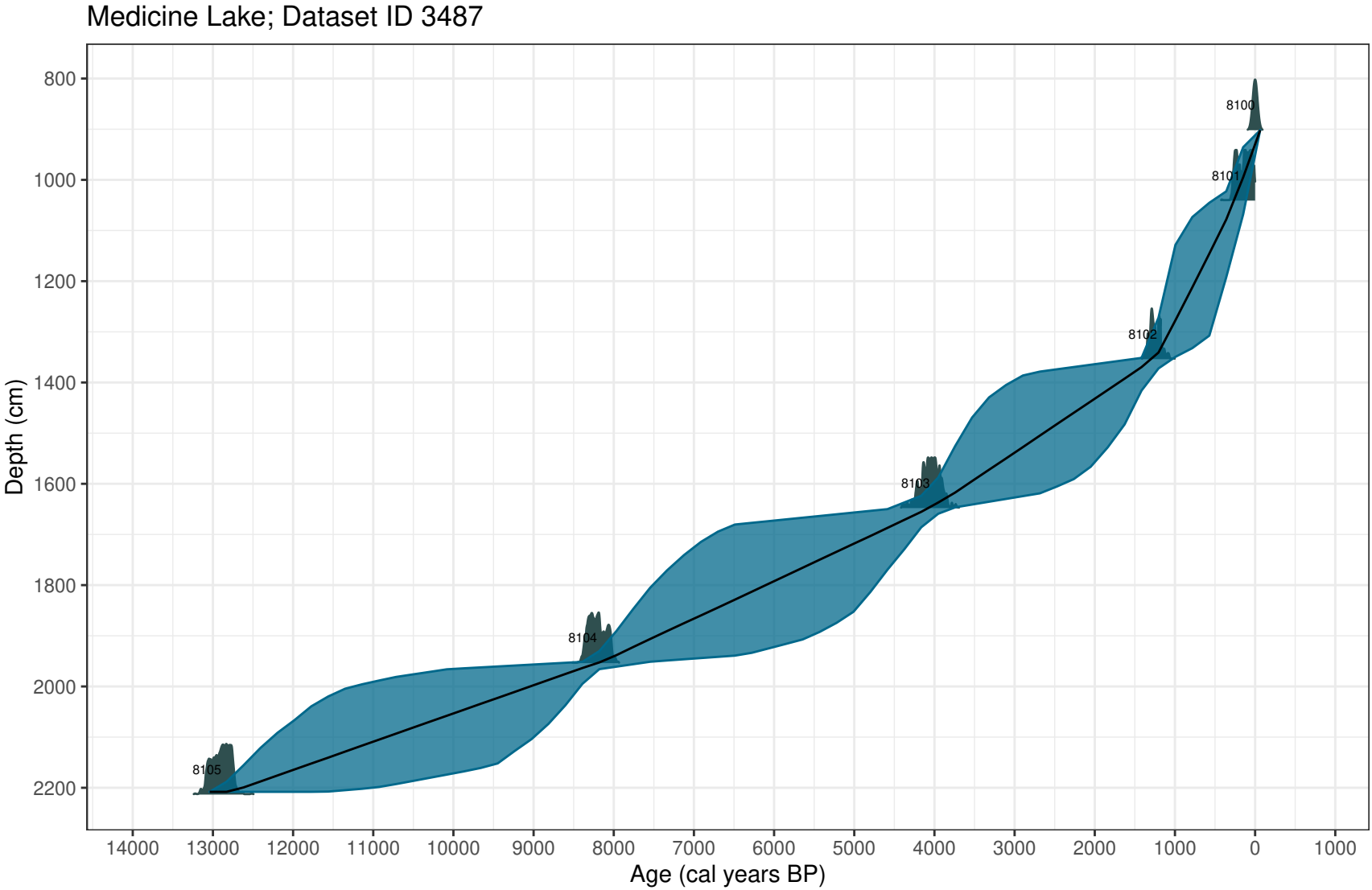
Medicine Lake; Dataset ID 3487
Depth (cm)
800
1000
1200
1400
1600
1800
2000
2200
Age (cal years BP)
14000
13000
12000
11000
10000
9000
8000
7000
6000
5000
4000
3000
2000
1000
0
1000
8100
8101
8102
8103
8104
8105

Lake Minnie; Dataset ID 3492

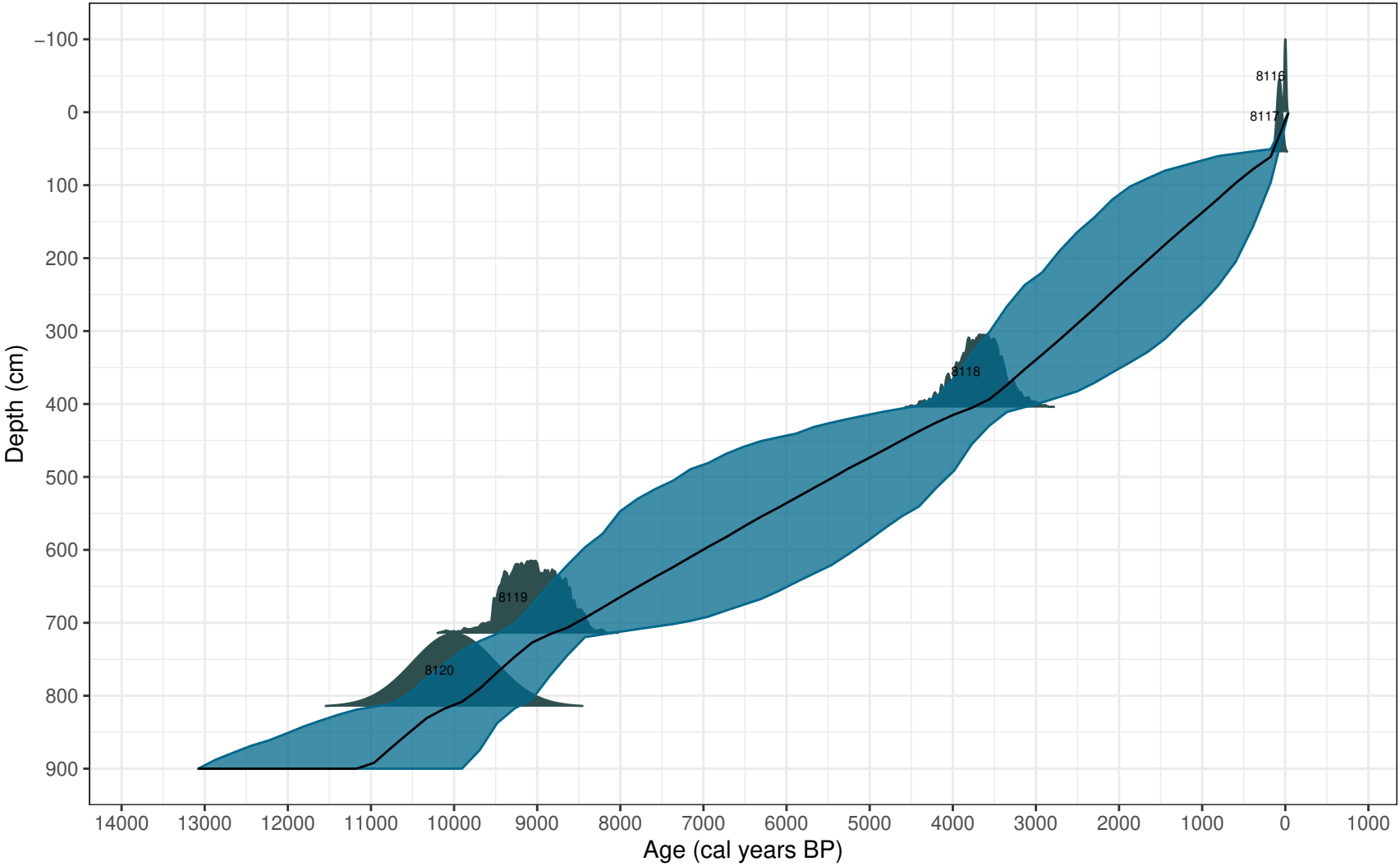

Mohawk Pond; Dataset ID 3493

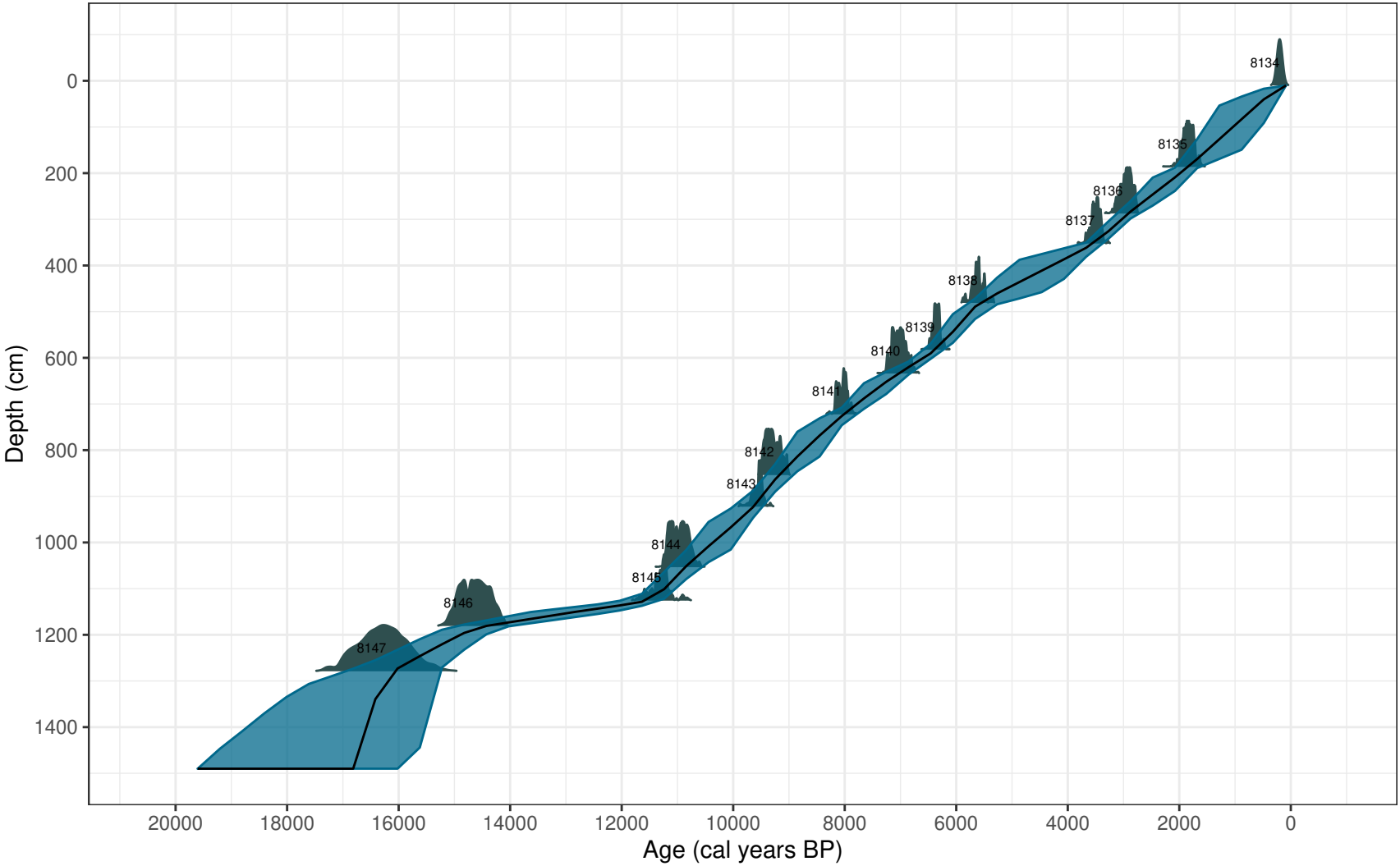

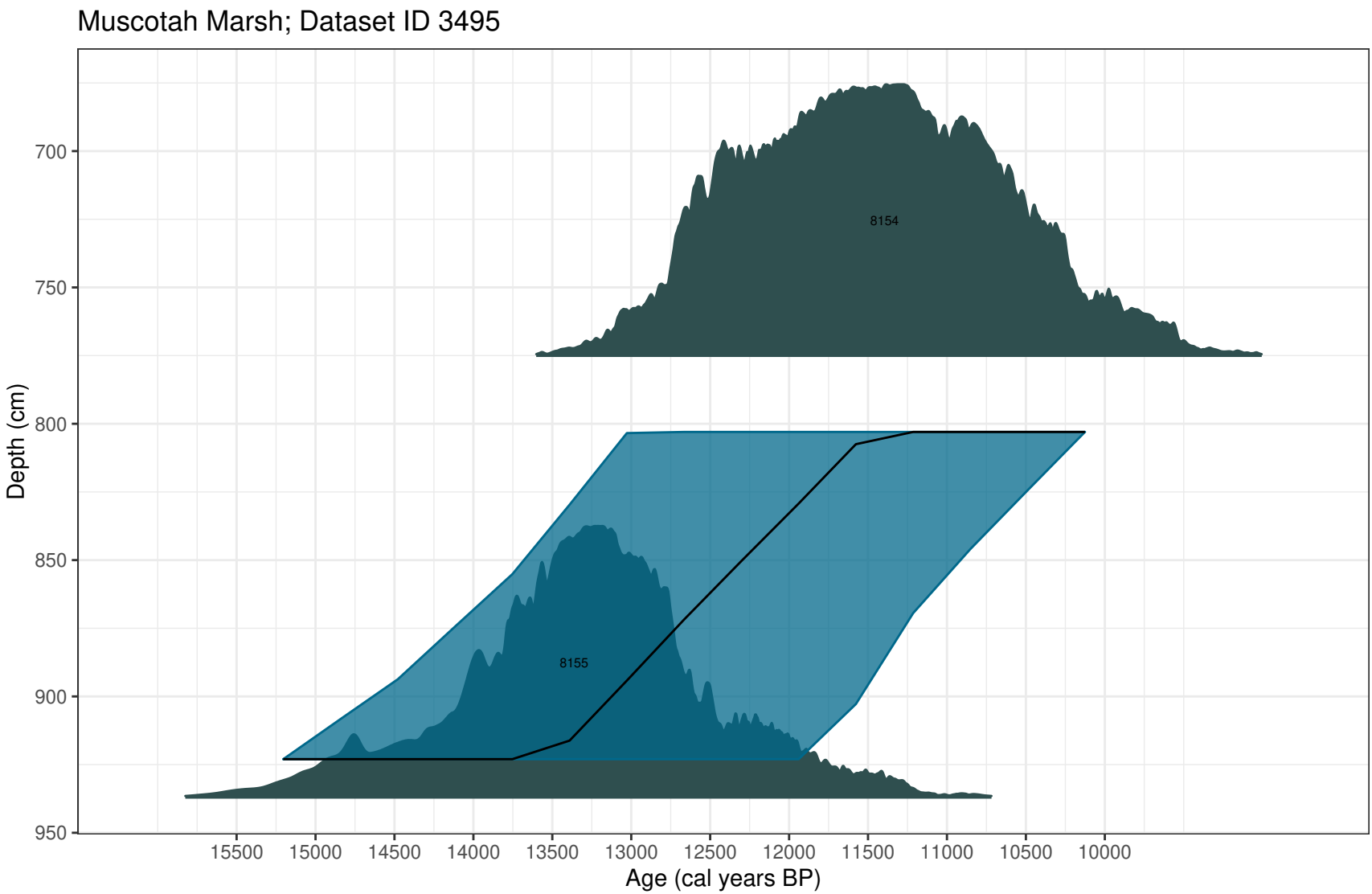
Muscotah Marsh; Dataset ID 3495
Depth (cm)
700
750
800
850
900
950
8154
8155
15500
15000
14500
14000
13500
13000
12500
12000
11500
11000
10500
10000
Age (cal years BP)

Nichols Brook Site; Dataset ID 3497

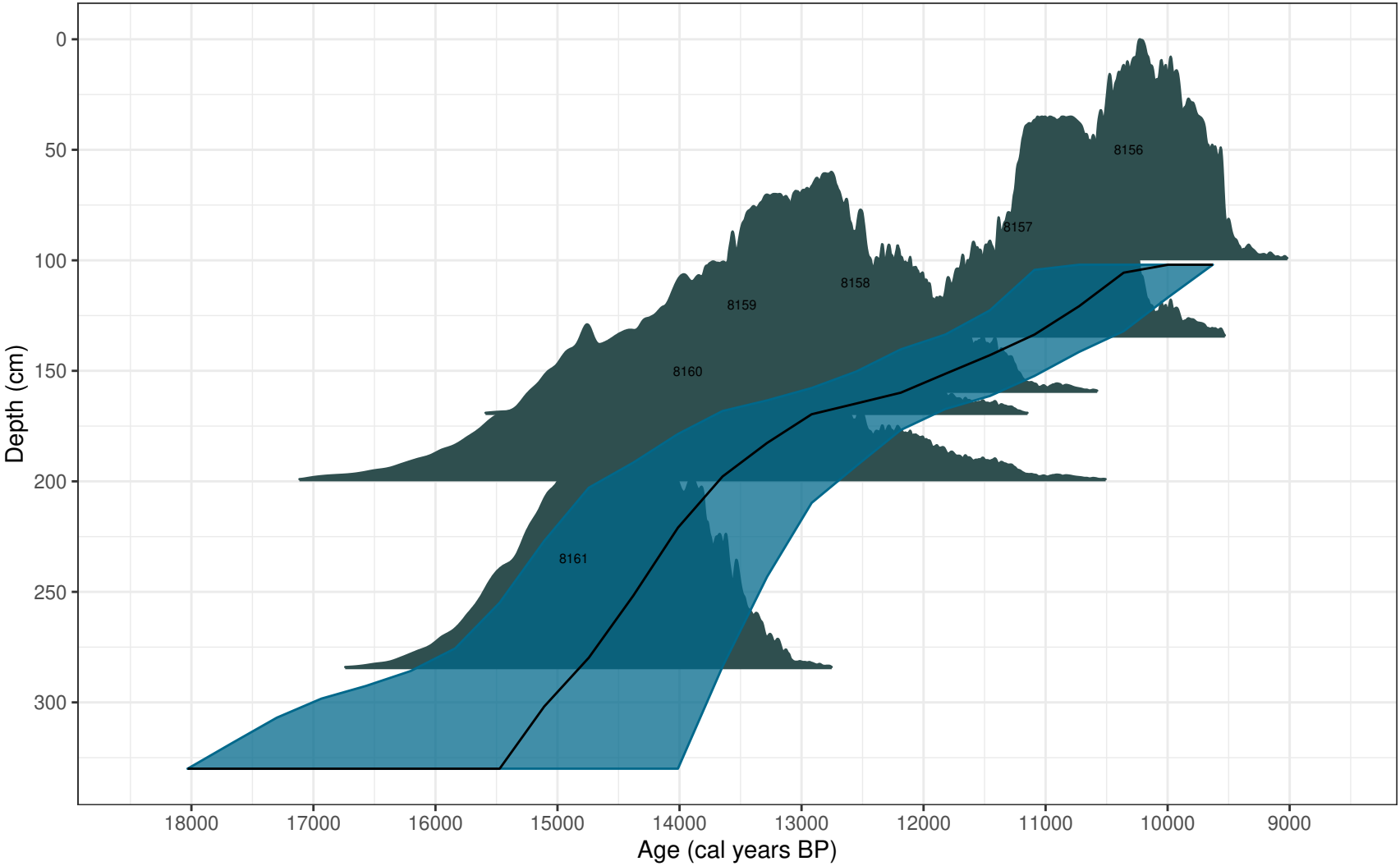

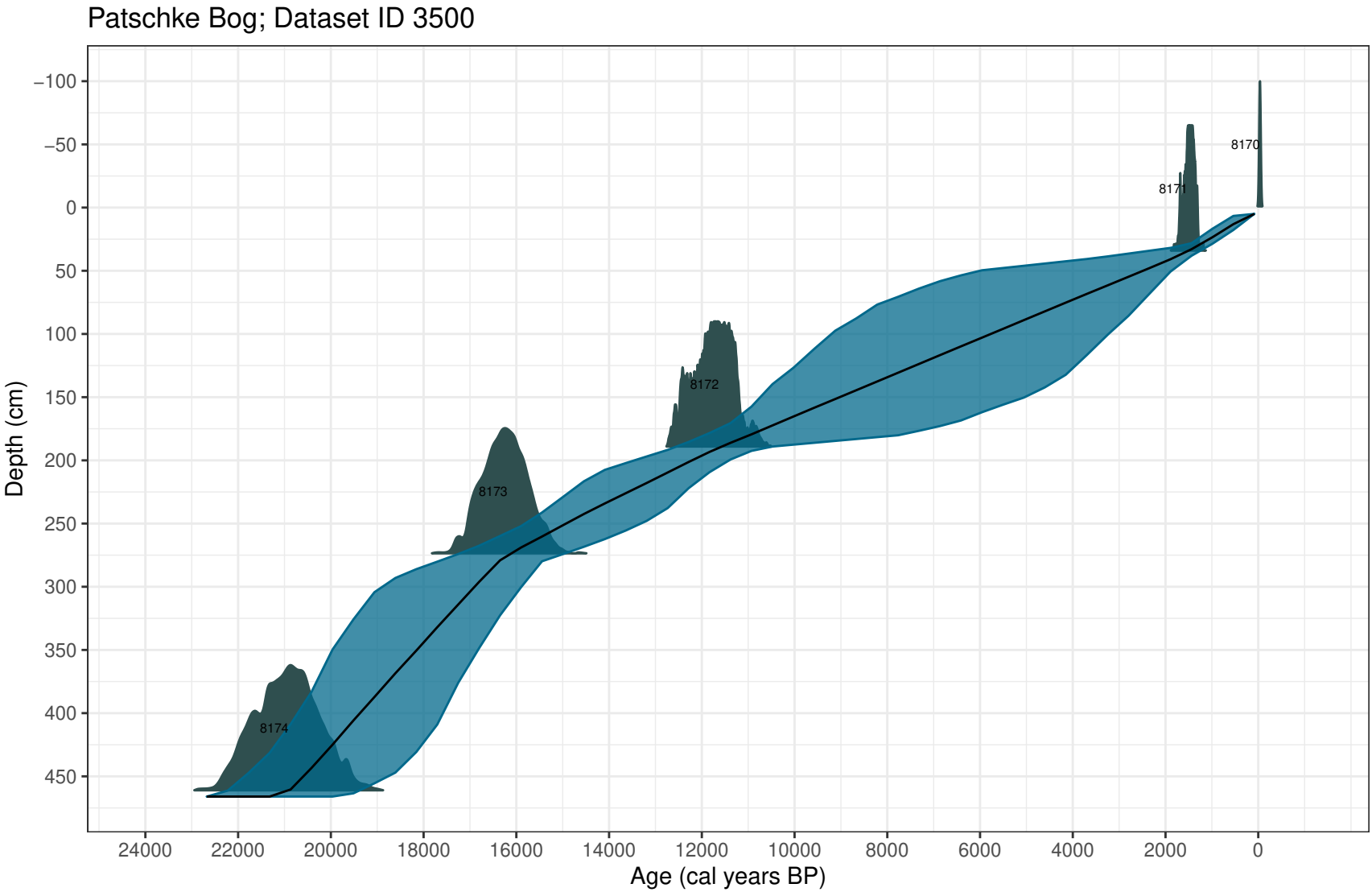
Patschke Bog; Dataset ID 3500
Depth (cm)
−100
−50
0
50
100
150
200
250
300
350
400
450
8170
8171
8172
8173
8174
24000
22000
20000
18000
16000
14000
12000
10000
8000
6000
4000
2000
0
Age (cal years BP)

Pittsburg Basin; Dataset ID 3501

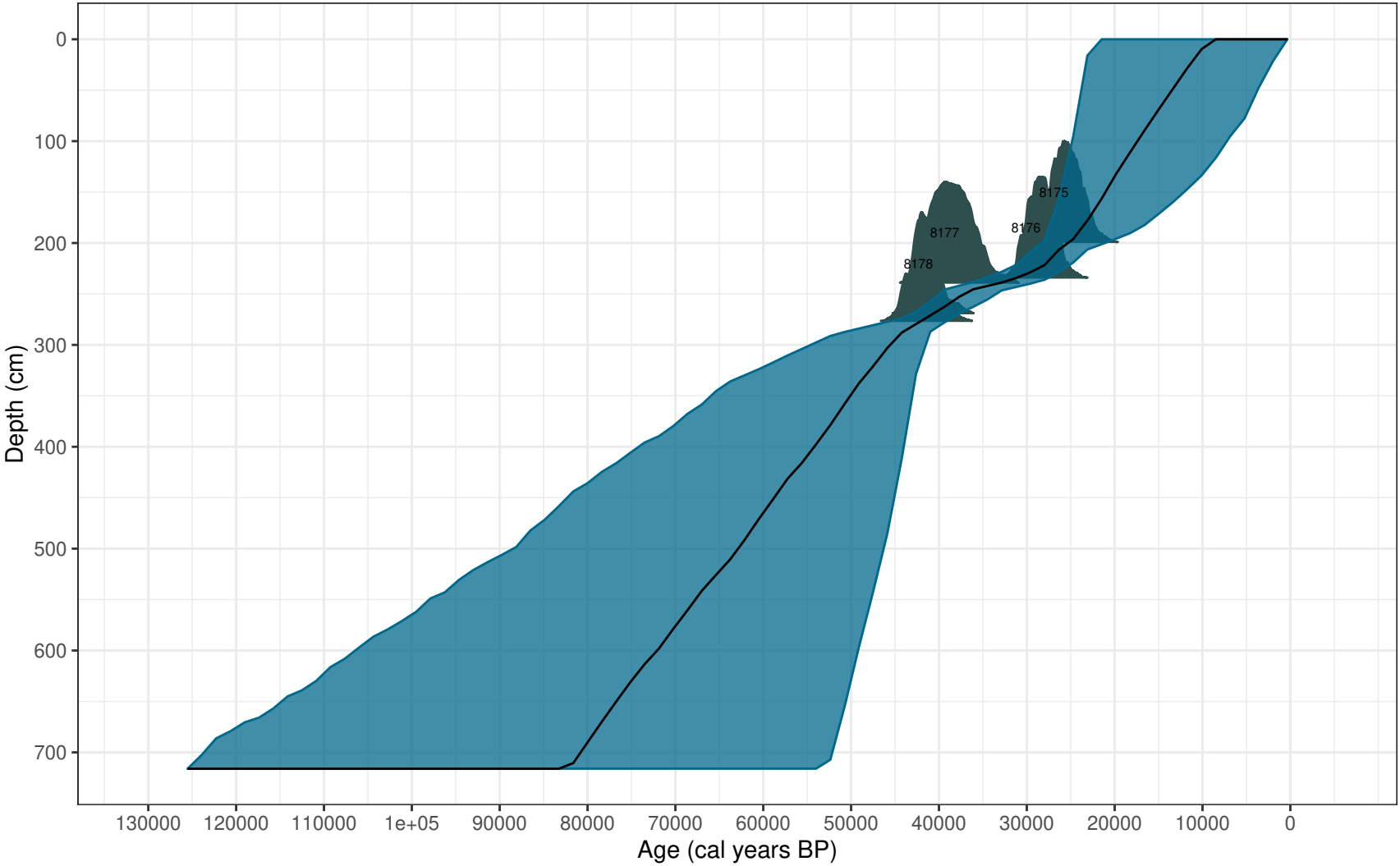

Cedar Bog; Dataset ID 352

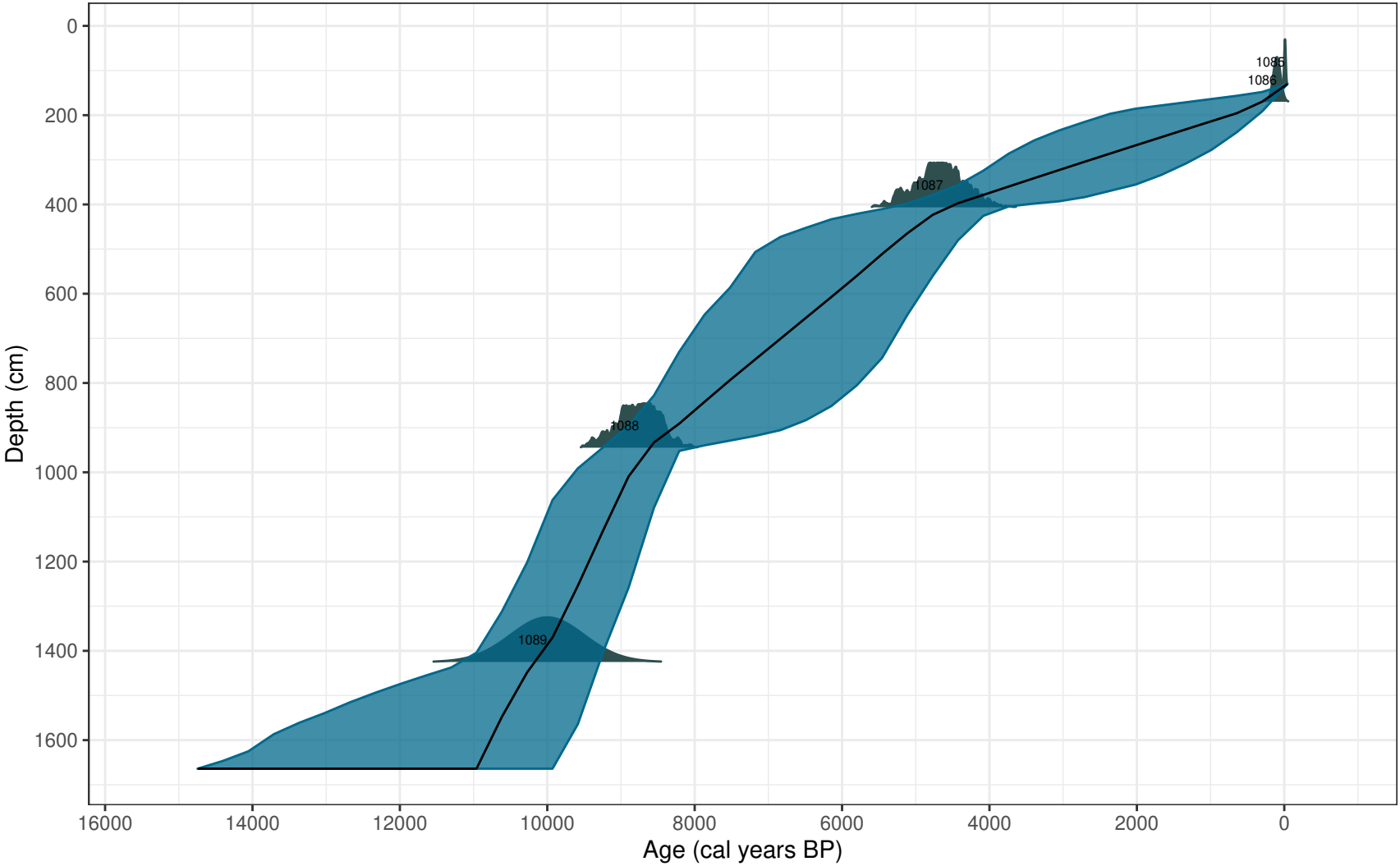

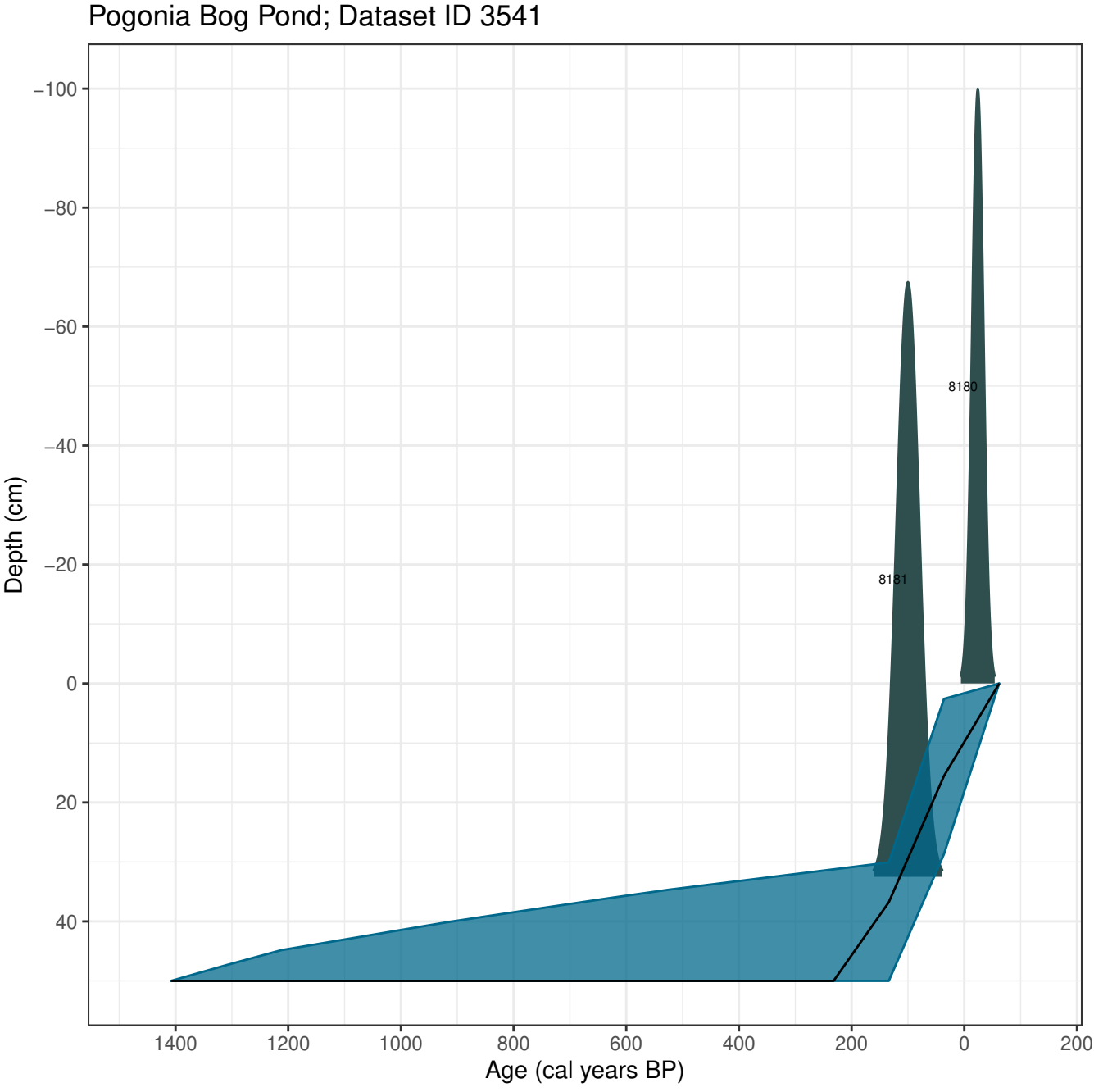
Pogonia Bog Pond; Dataset ID 3541
Depth (cm)
−100
−80
−60
−40
−20
0
20
40
8180
8181
1400
1200
1000
800
600
400
200
0
200
Age (cal years BP)

Pickerel Lake; Dataset ID 3542

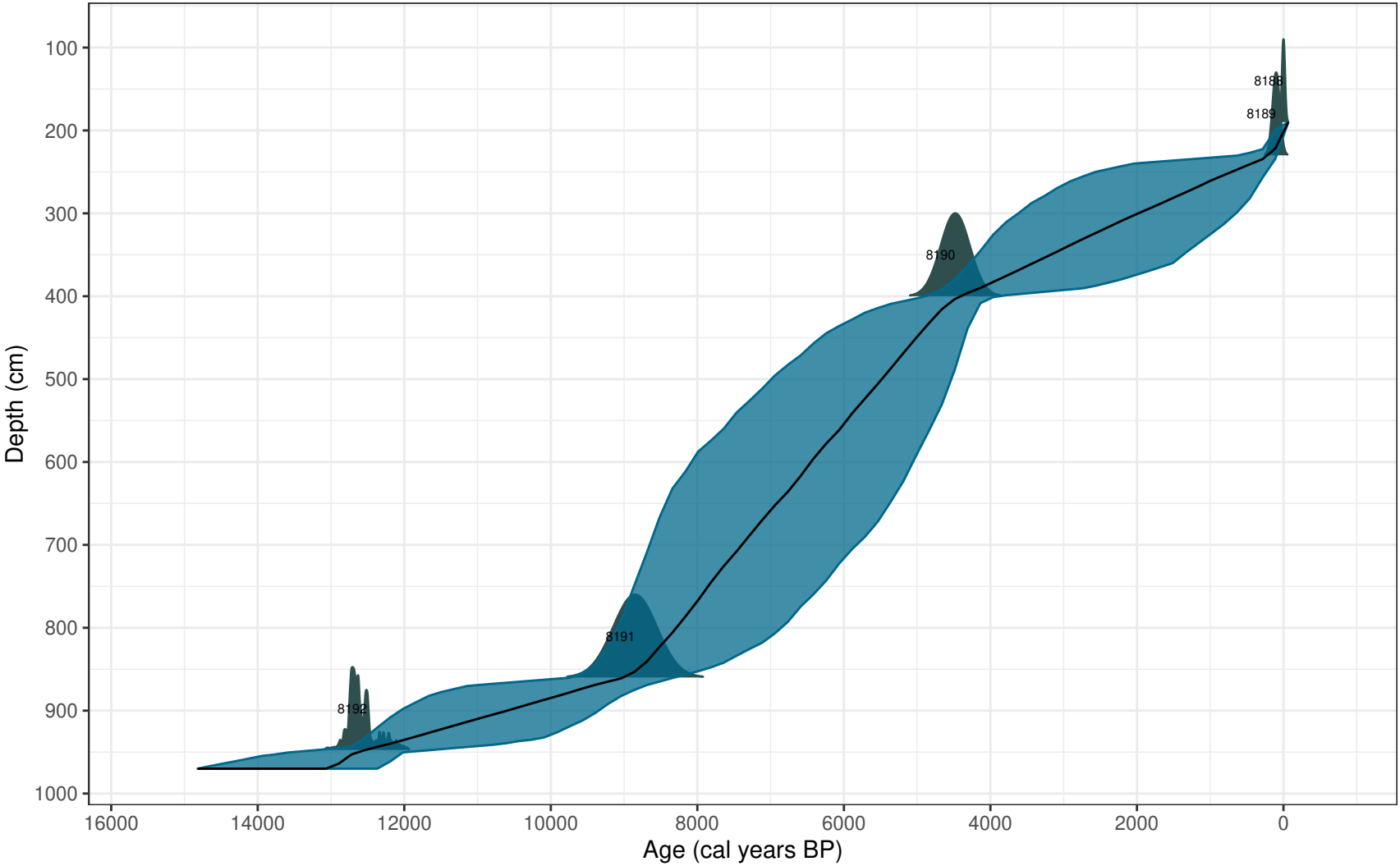

Pogonia Bog Pond; Dataset ID 3558

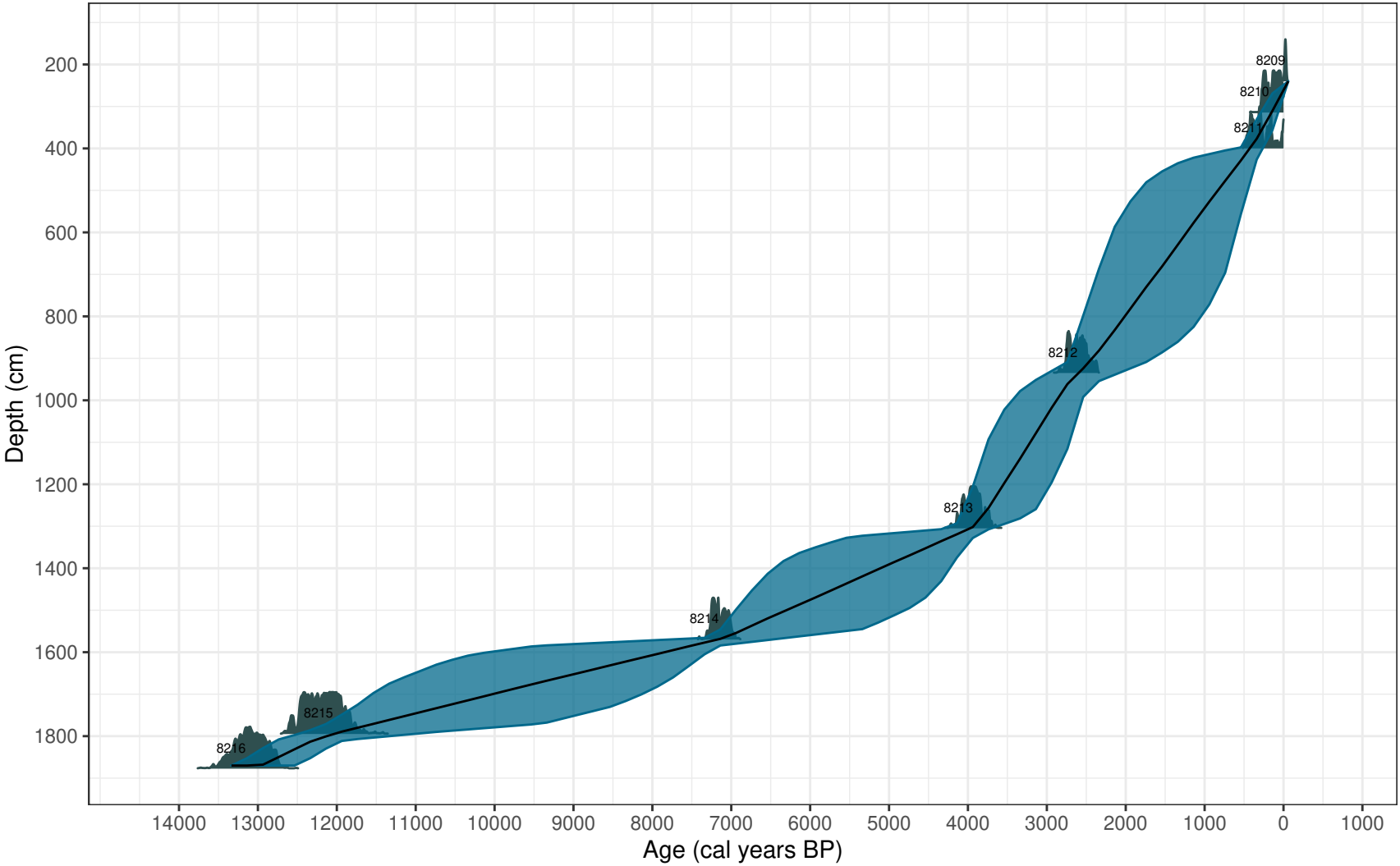

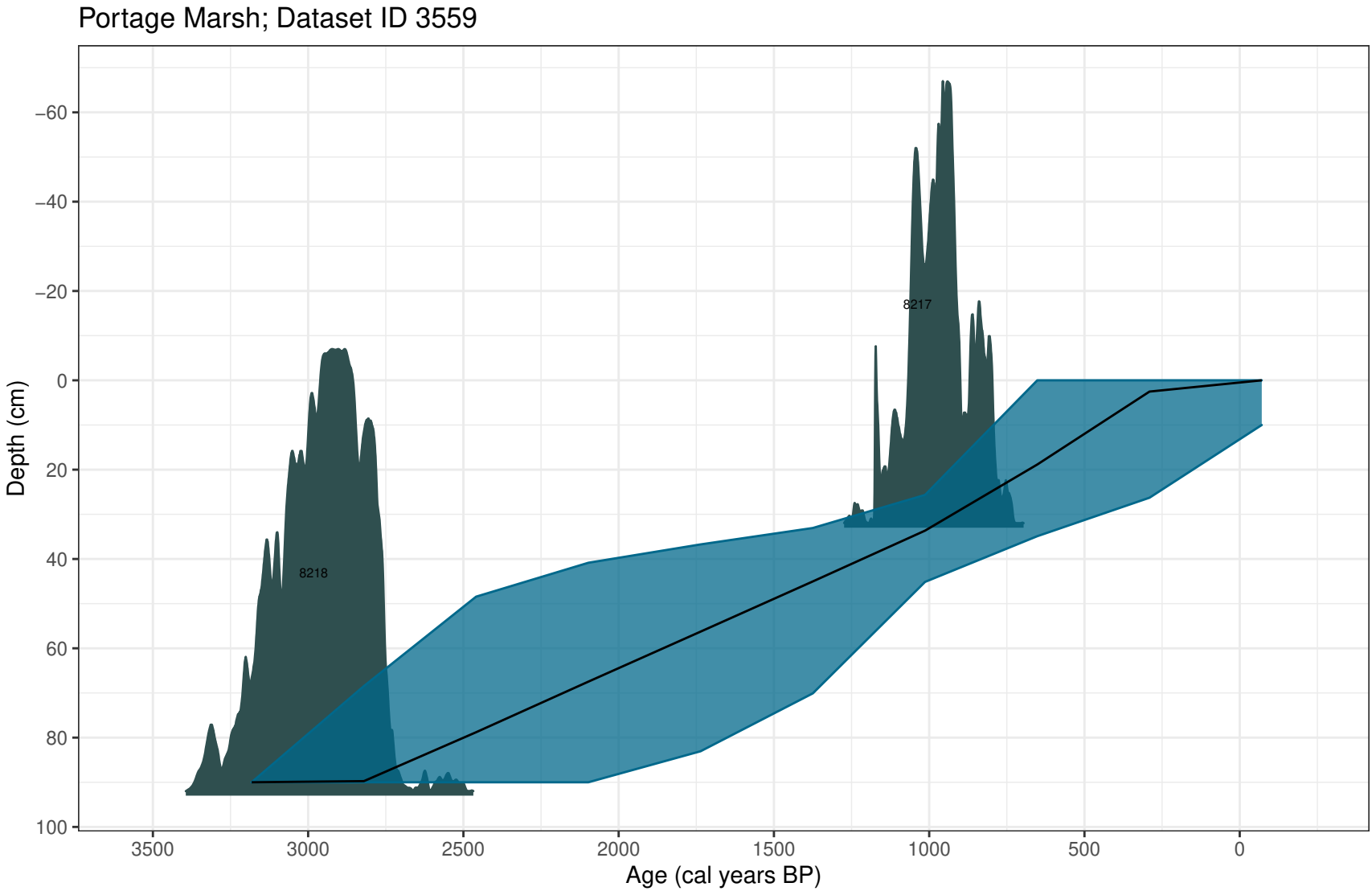
Portage Marsh; Dataset ID 3559
8217
8218
Depth (cm)
−60
−40
−20
0
20
40
60
80
100
3500
3000
2500
2000
1500
1000
500
0
Age (cal years BP)

Potato Lake; Dataset ID 3561

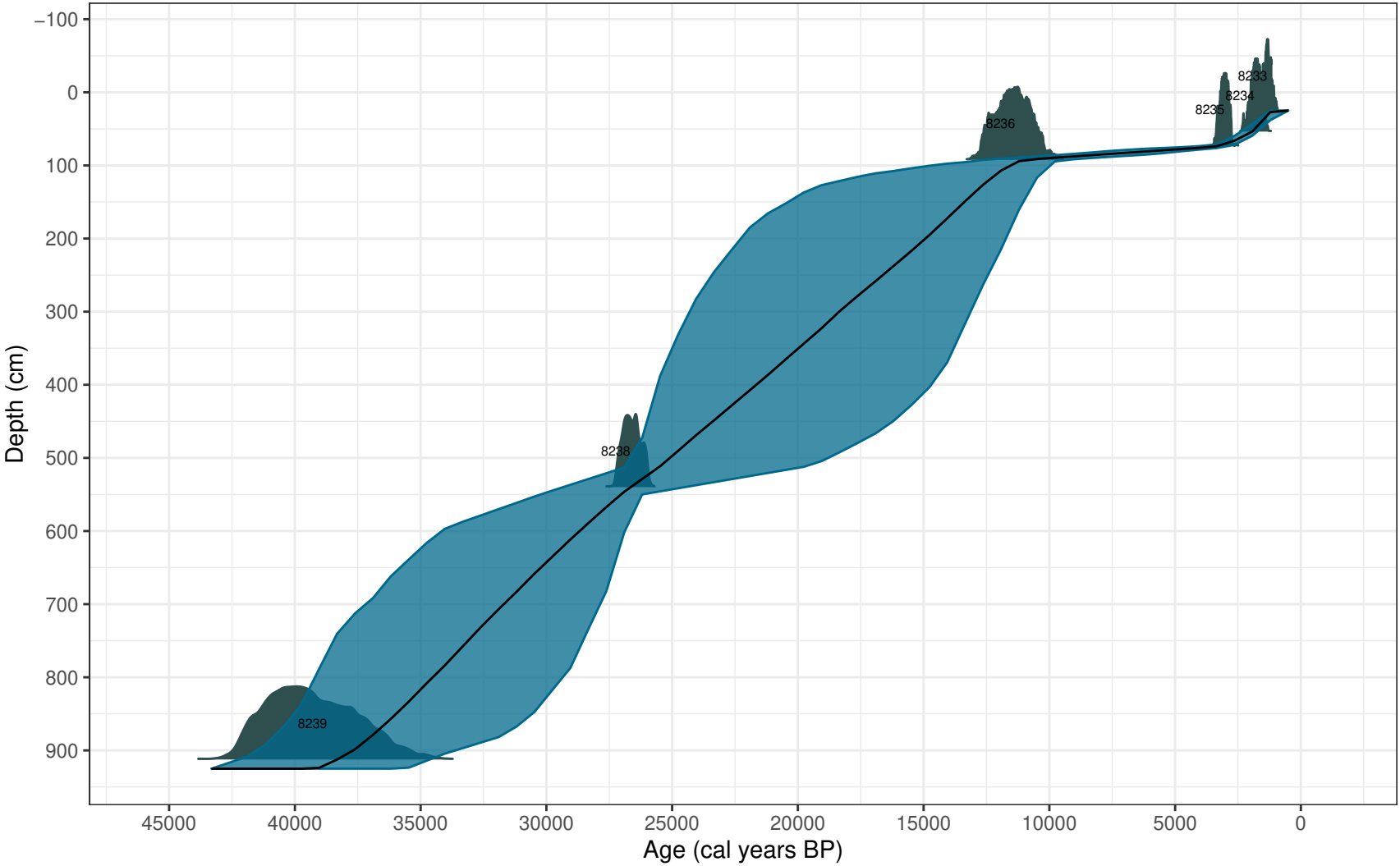

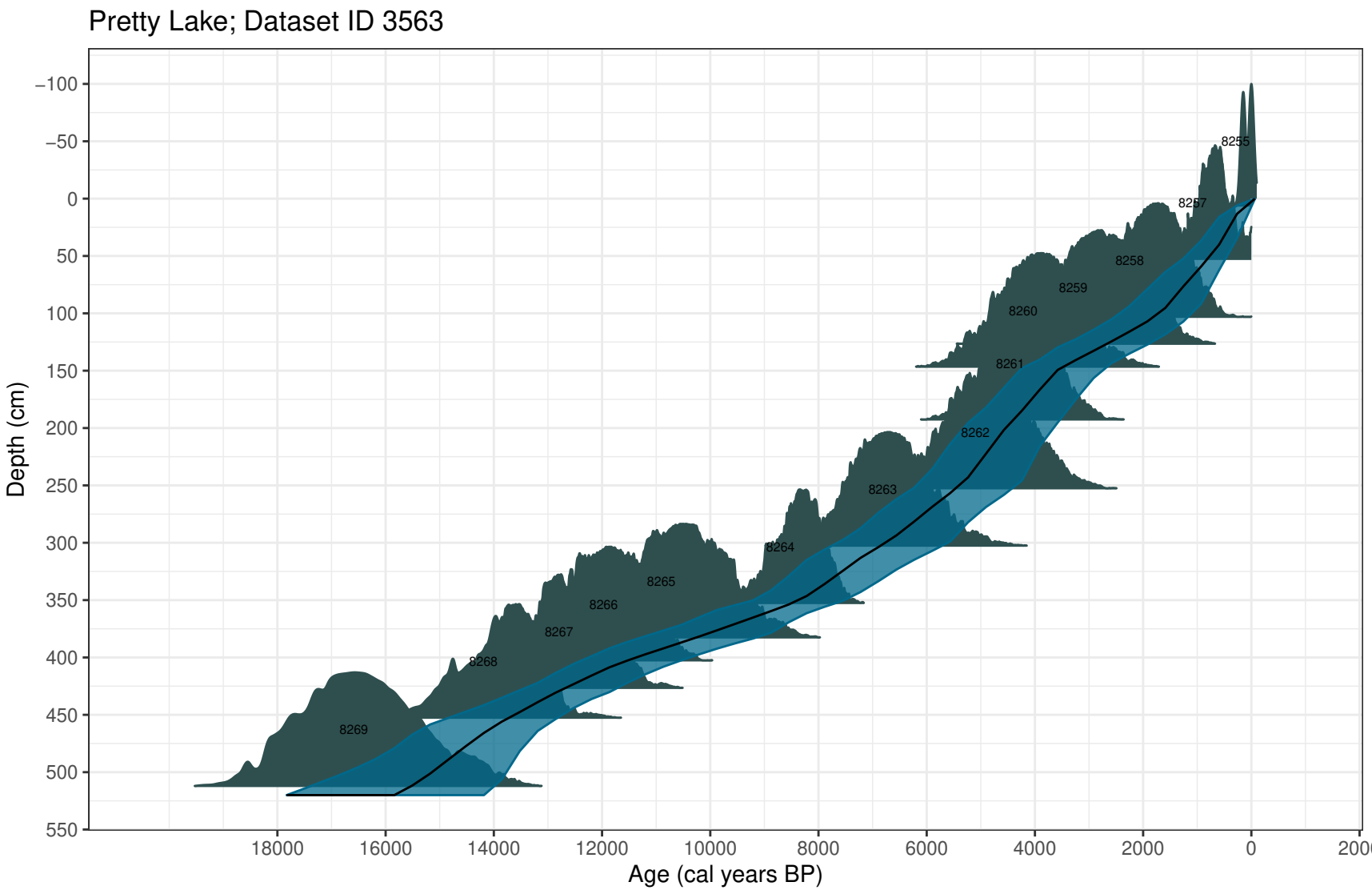
Pretty Lake; Dataset ID 3563
Depth (cm)
Age (cal years BP)
−100
−50
0
50
100
150
200
250
300
350
400
450
500
550
18000
16000
14000
12000
10000
8000
6000
4000
2000
0
8255
8257
8258
8259
8260
8261
8262
8263
8264
8265
8266
8267
8268
8269

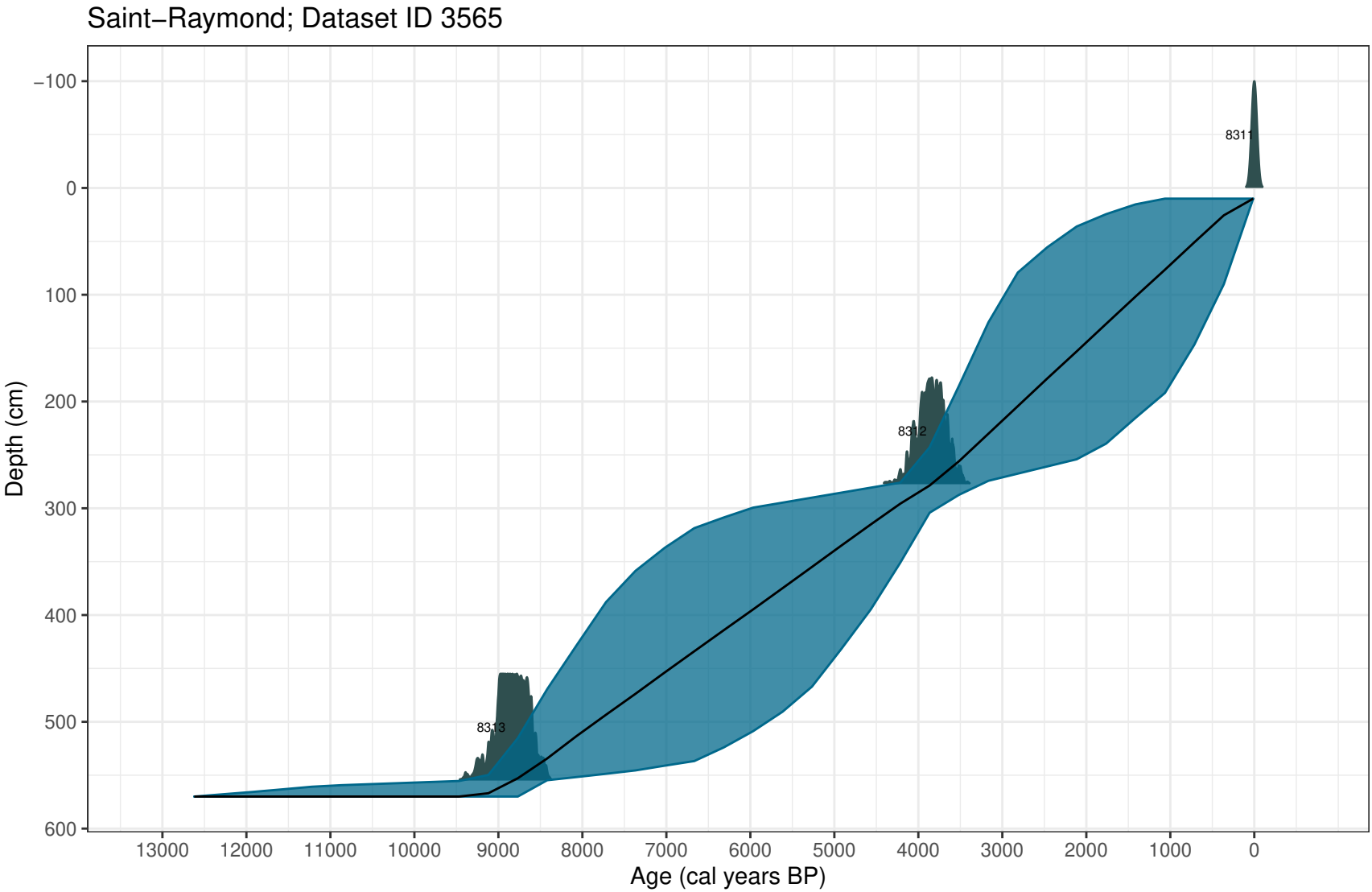
Saint−Raymond; Dataset ID 3565
Depth (cm)
−100
0
100
200
300
400
500
600
8311
8312
8313
13000
12000
11000
10000
9000
8000
7000
6000
5000
4000
3000
2000
1000
0
Age (cal years BP)

Rice Lake; Dataset ID 3568

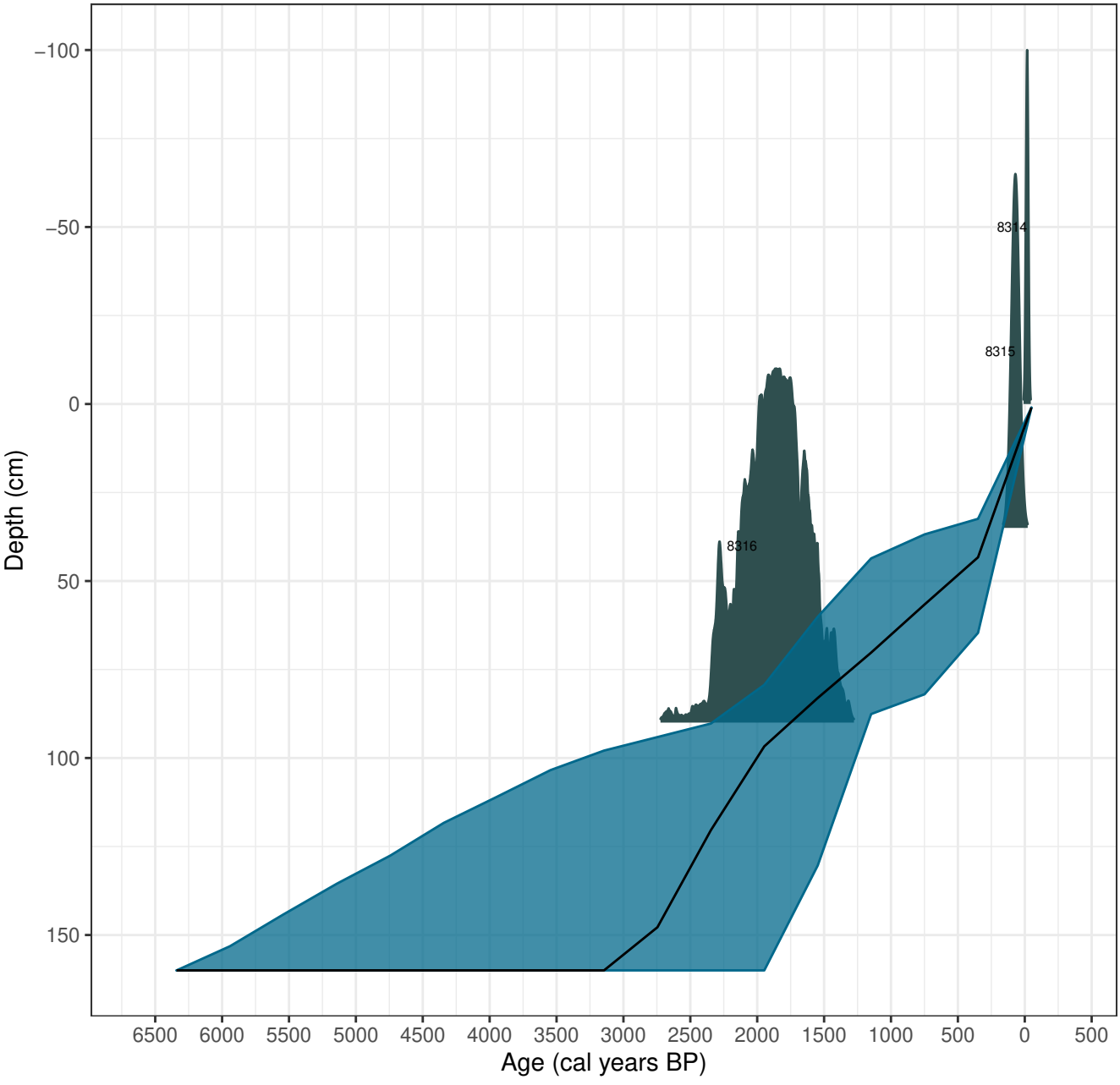

Rockyhock Bay; Dataset ID 3582

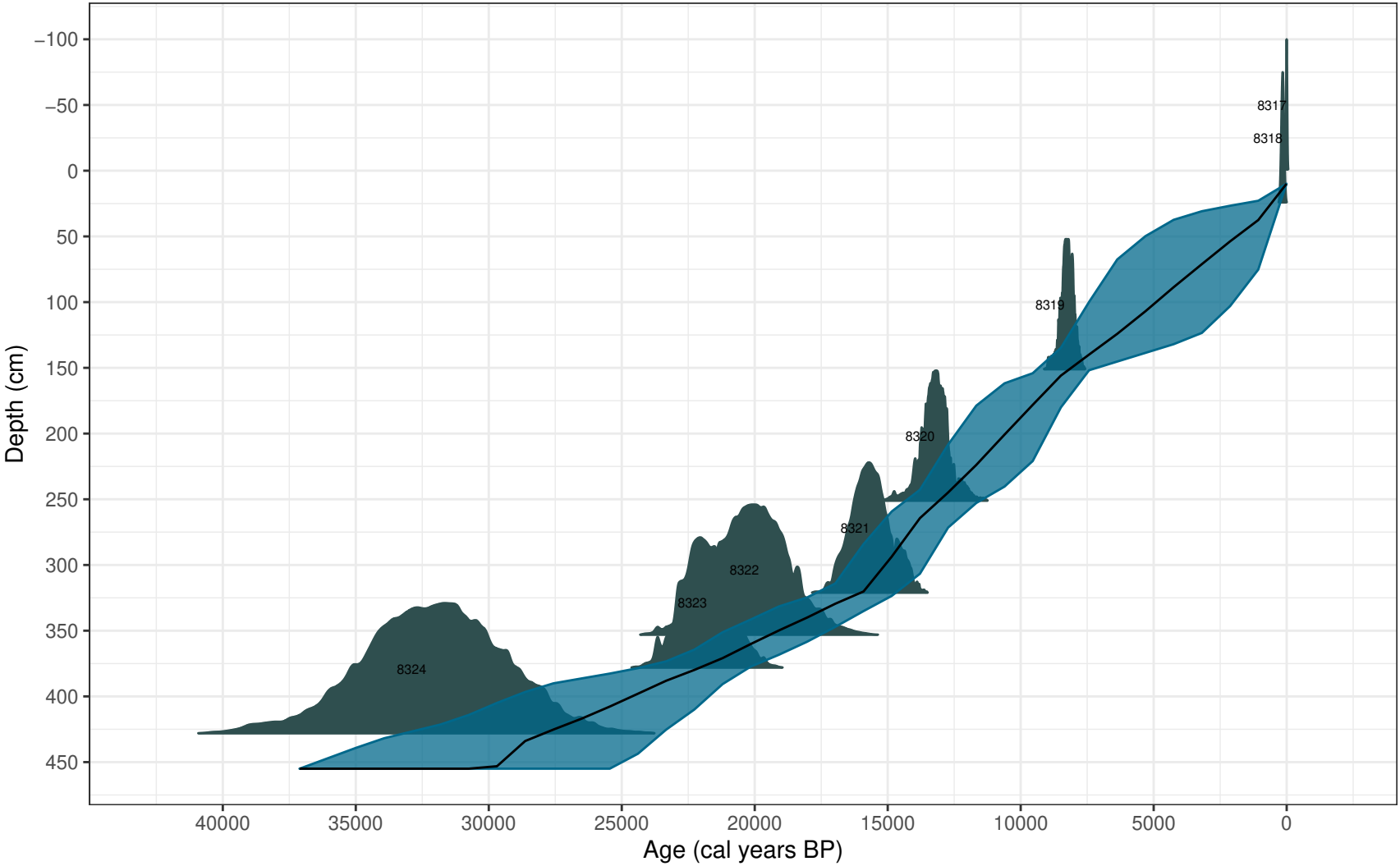

Rosebud; Dataset ID 3583

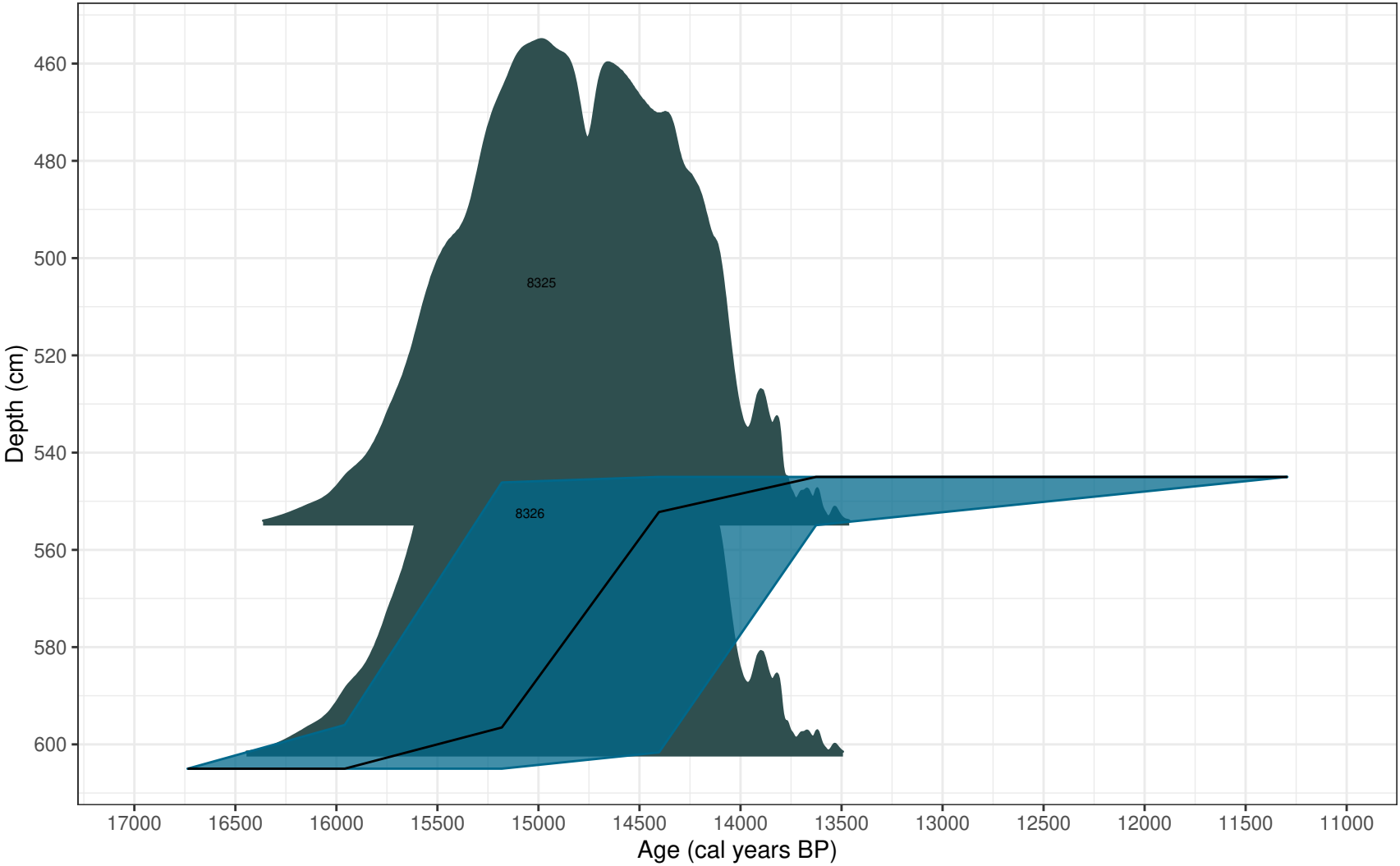

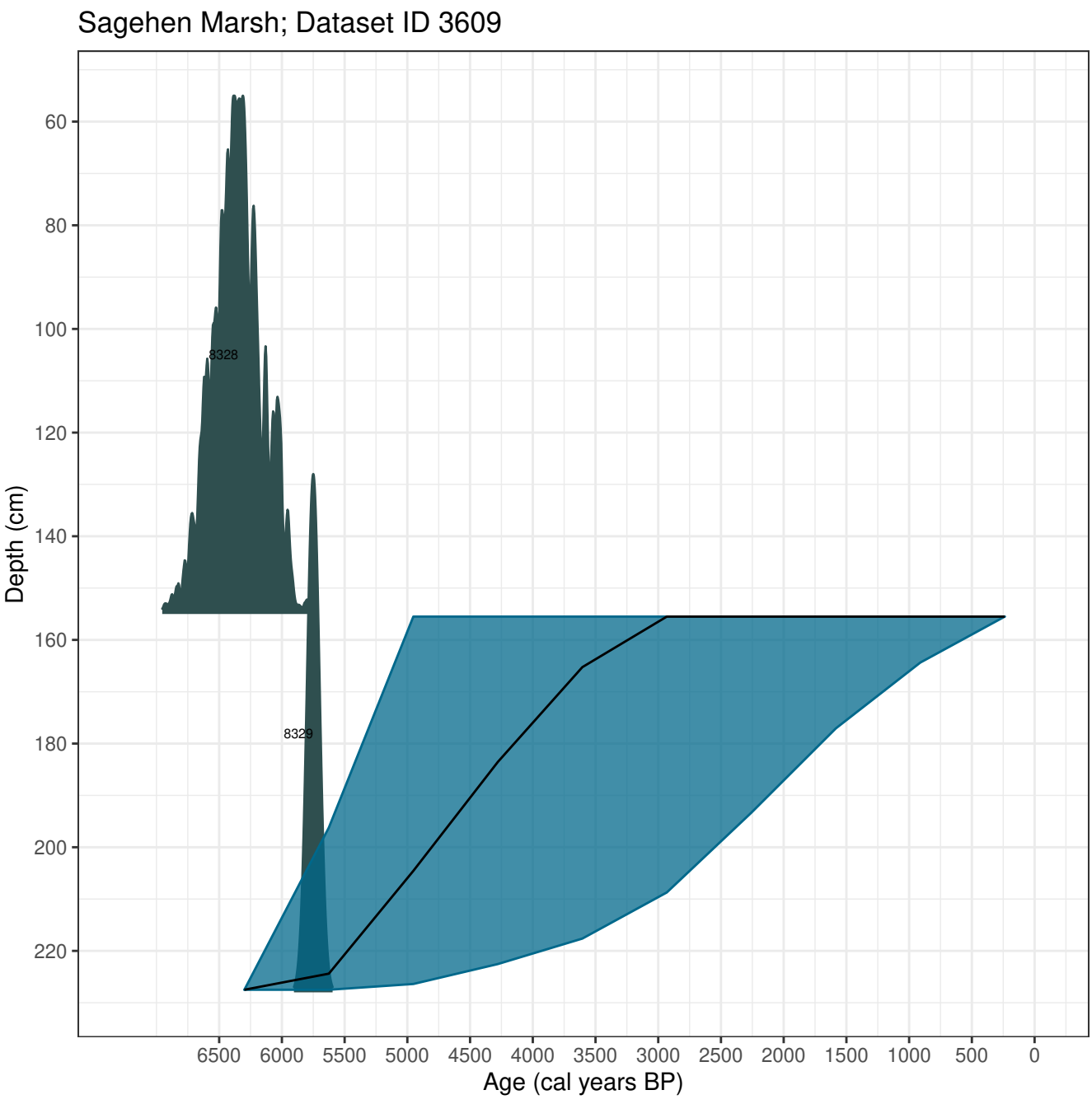
Sagehen Marsh; Dataset ID 3609
Depth (cm)
60
80
100
120
140
160
180
200
220
8328
8329
6500
6000
5500
5000
4500
4000
3500
3000
2500
2000
1500
1000
500
0
Age (cal years BP)

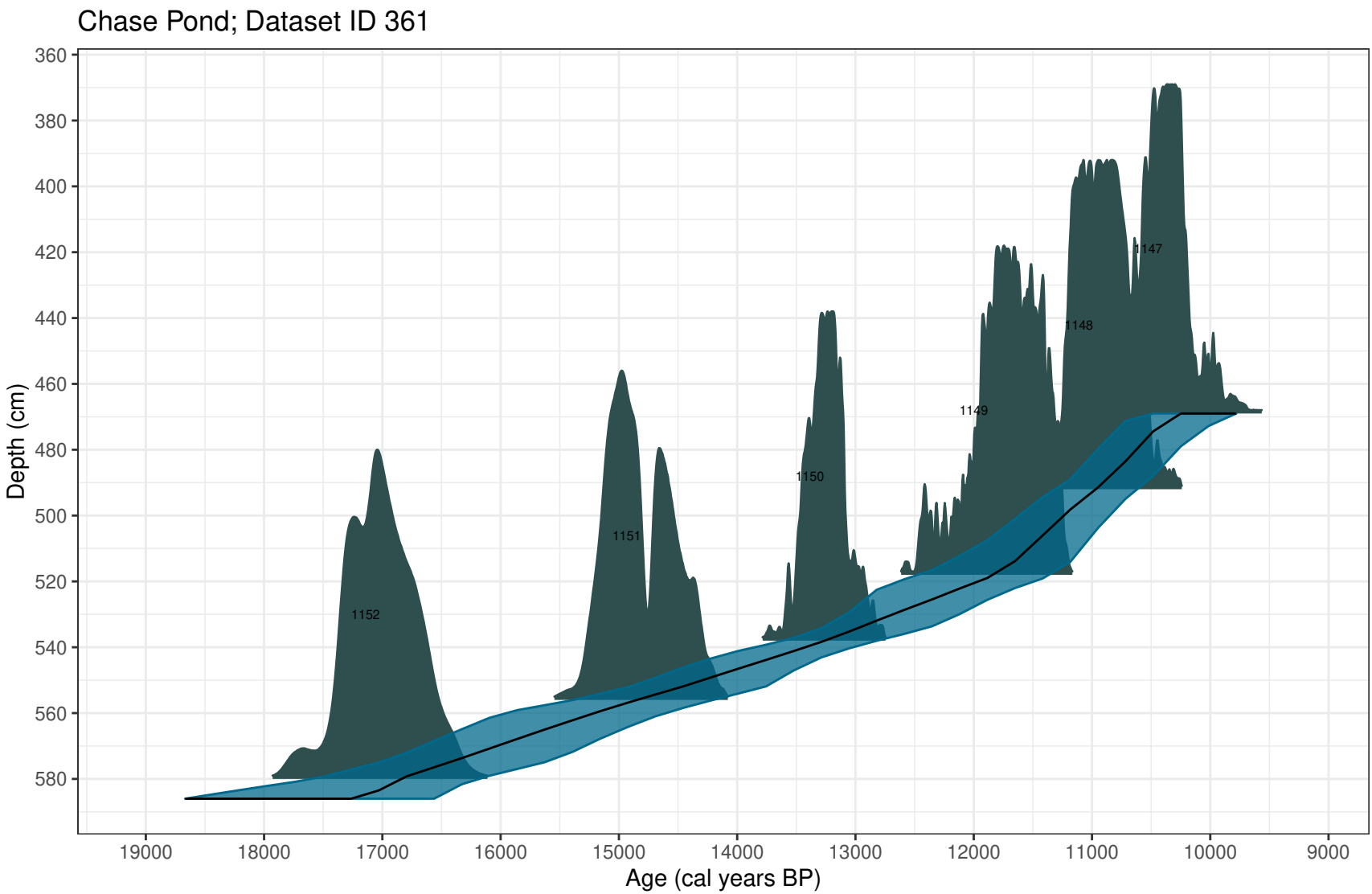
Chase Pond; Dataset ID 361
Depth (cm)
360
380
400
420
440
460
480
500
520
540
560
580
1152
1151
1150
1149
1148
1147
19000
18000
17000
16000
15000
14000
13000
12000
11000
10000
9000
Age (cal years BP)

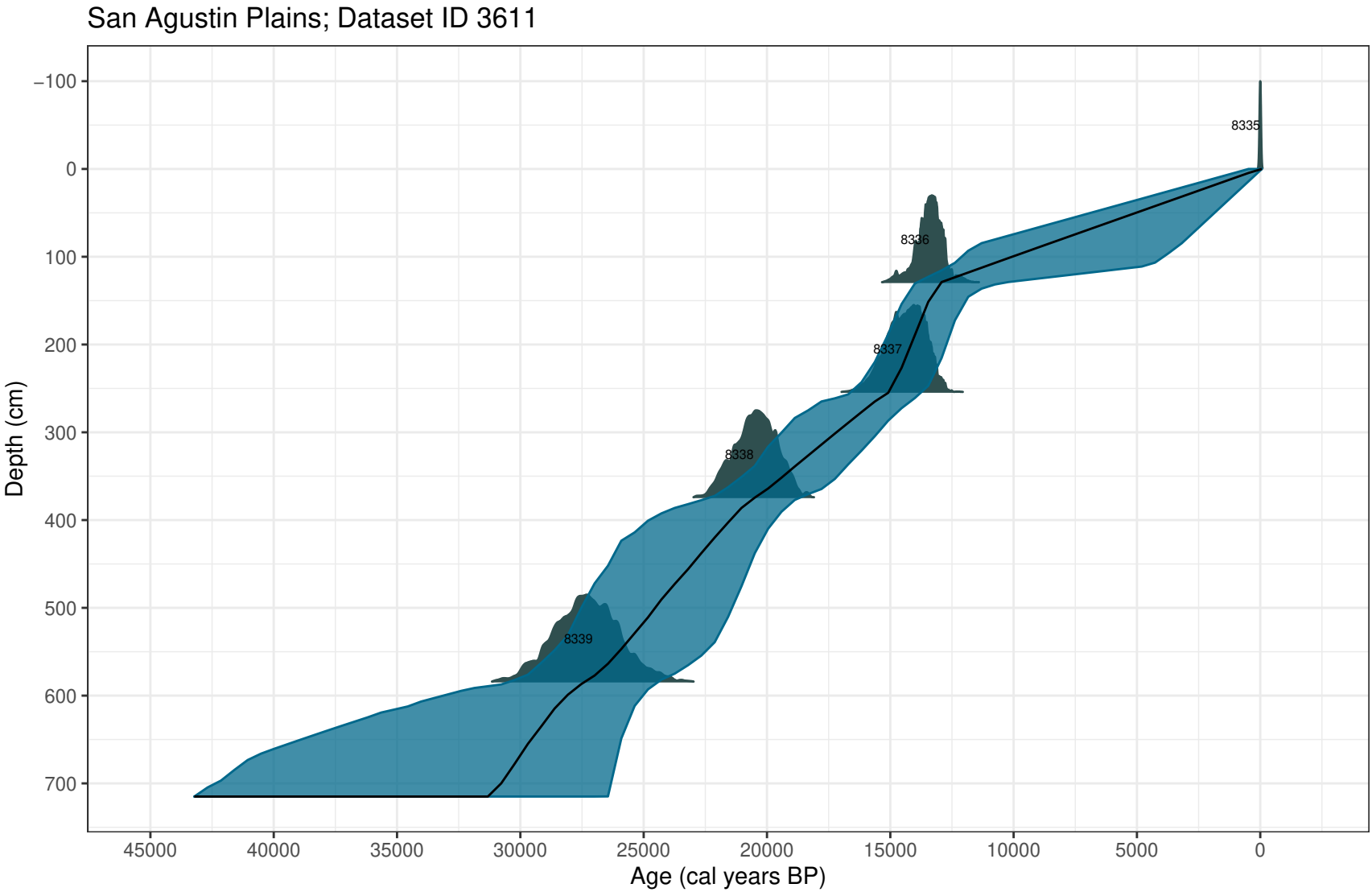
San Agustin Plains; Dataset ID 3611
Depth (cm)
−100
0
100
200
300
400
500
600
700
Age (cal years BP)
45000
40000
35000
30000
25000
20000
15000
10000
5000
0
8335
8336
8337
8338
8339

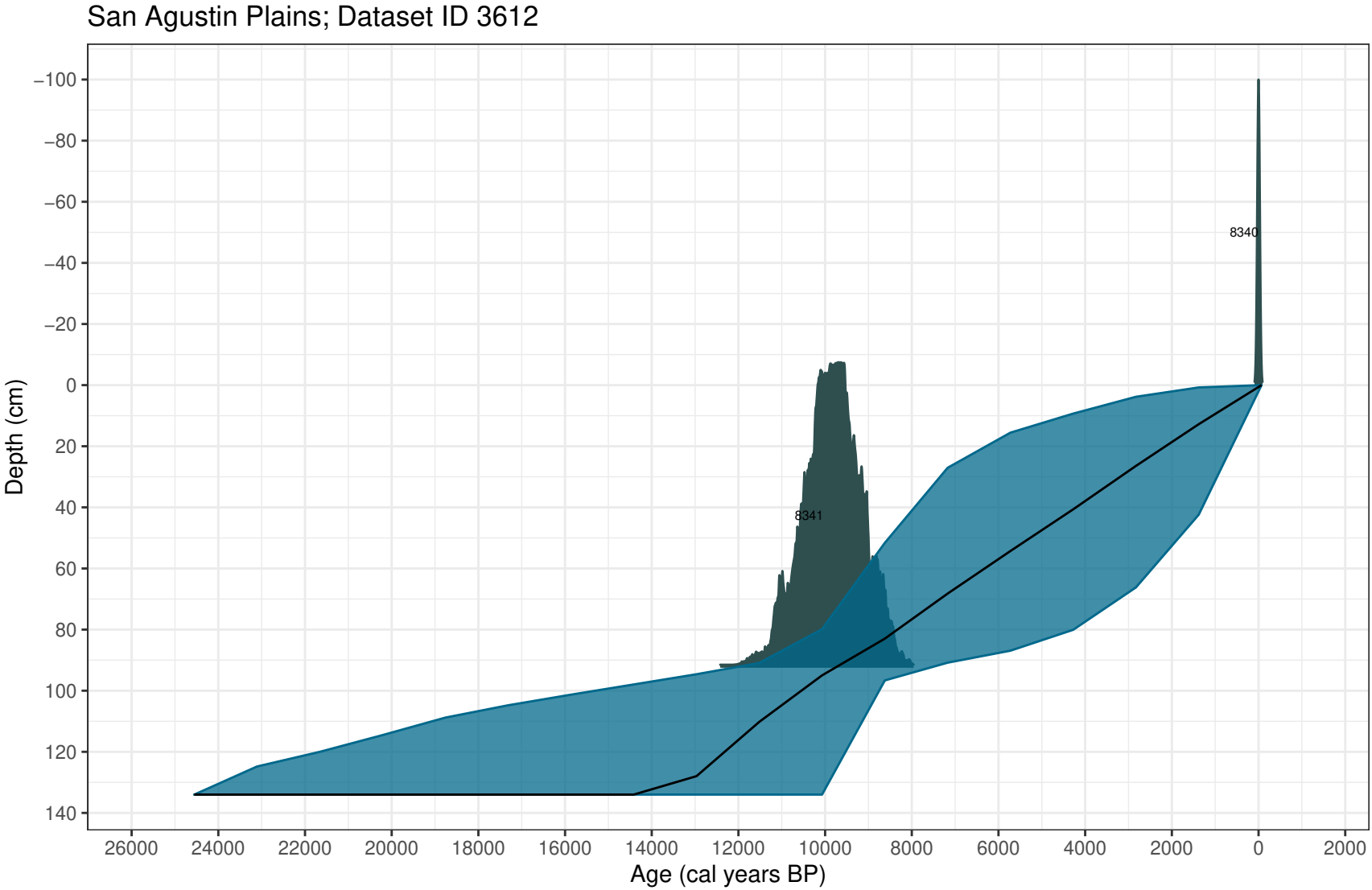
San Agustin Plains; Dataset ID 3612
Depth (cm)
−100
−80
−60
−40
−20
0
20
40
60
80
100
120
140
8340
8341
26000
24000
22000
20000
18000
16000
14000
12000
10000
8000
6000
4000
2000
0
2000
Age (cal years BP)

Cheyenne Bottoms; Dataset ID 367

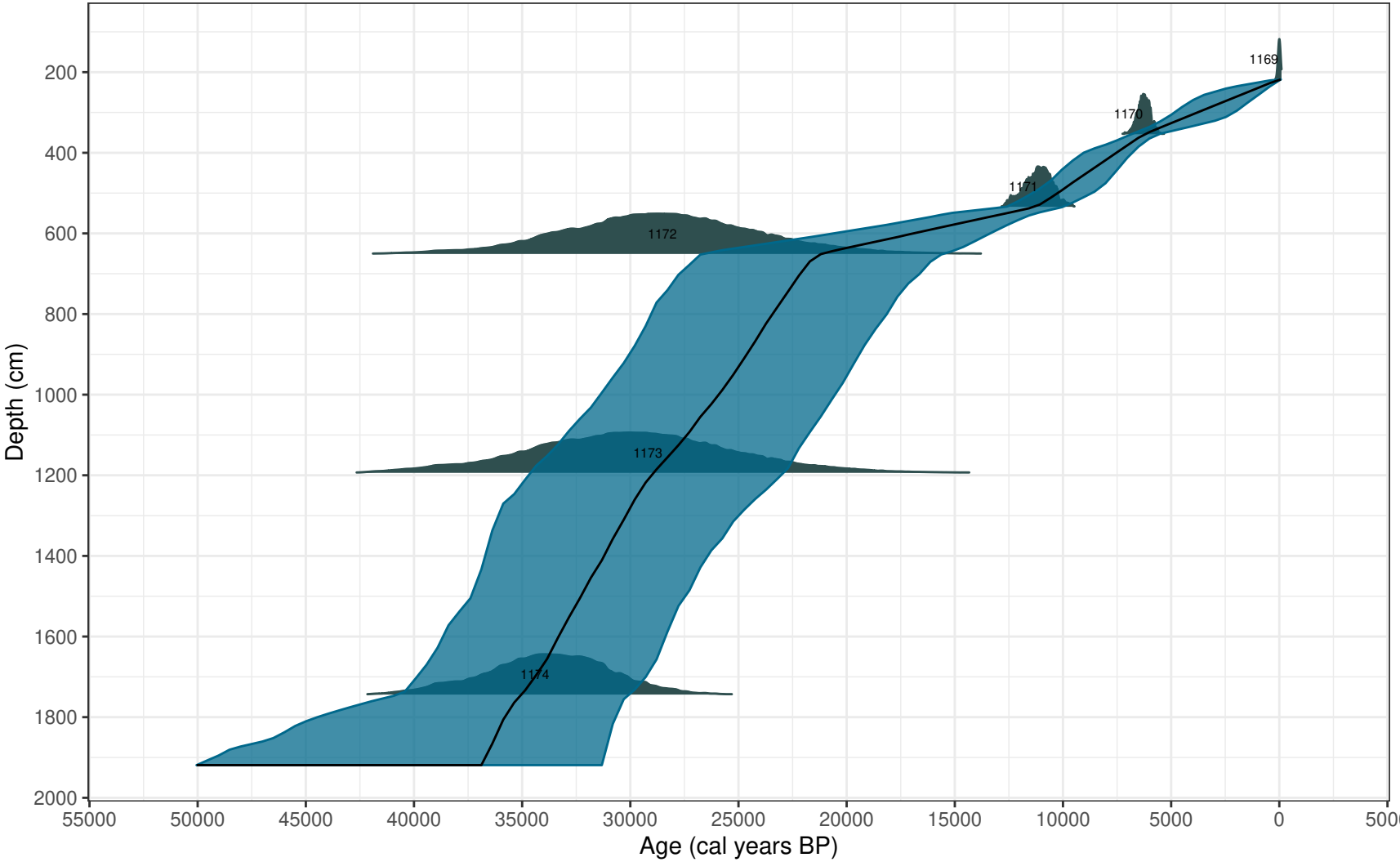

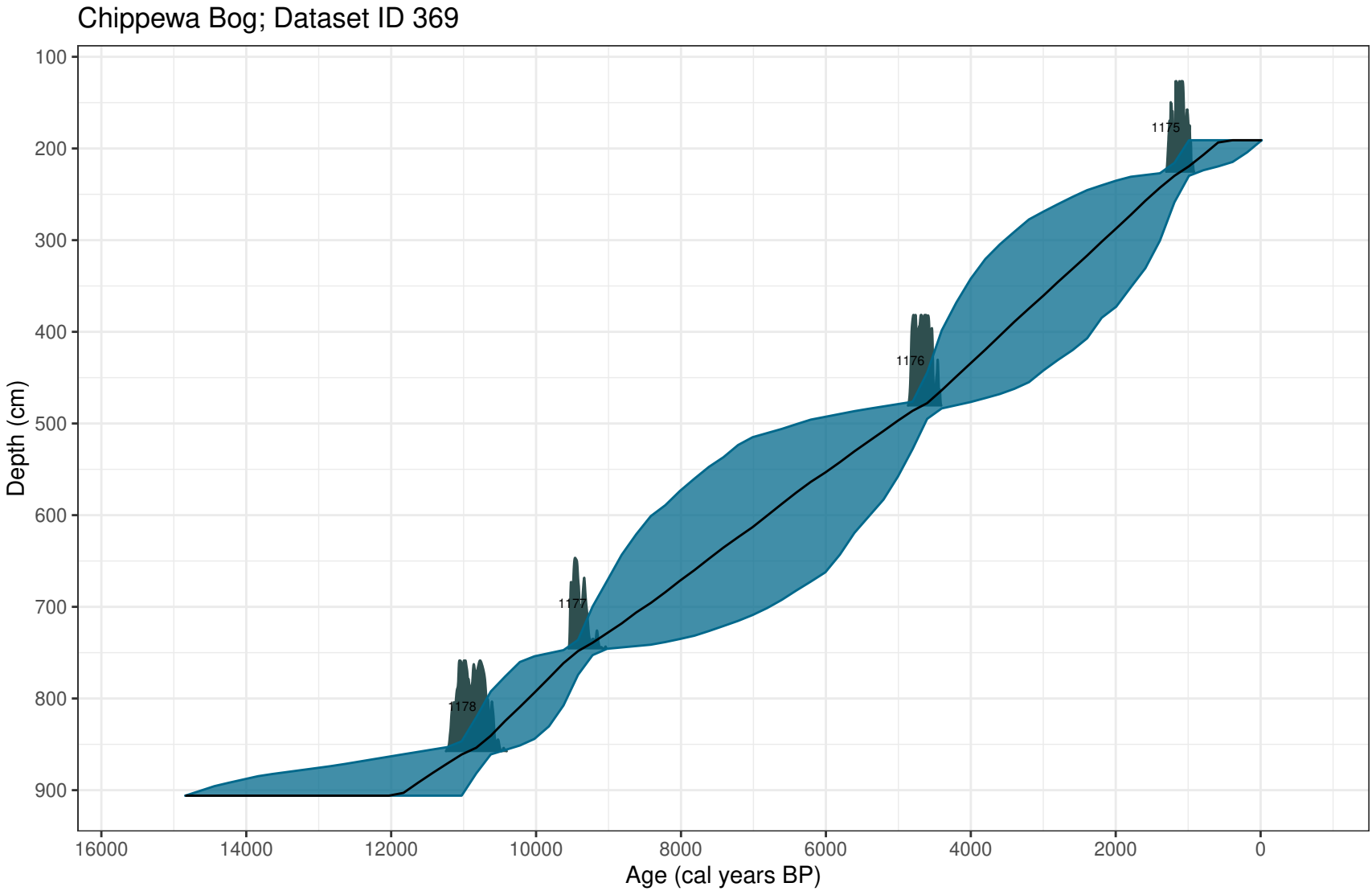
Chippewa Bog; Dataset ID 369
Depth (cm)
100
200
300
400
500
600
700
800
900
1175
1176
1177
1178
16000
14000
12000
10000
8000
6000
4000
2000
0
Age (cal years BP)

Chism 1; Dataset ID 371

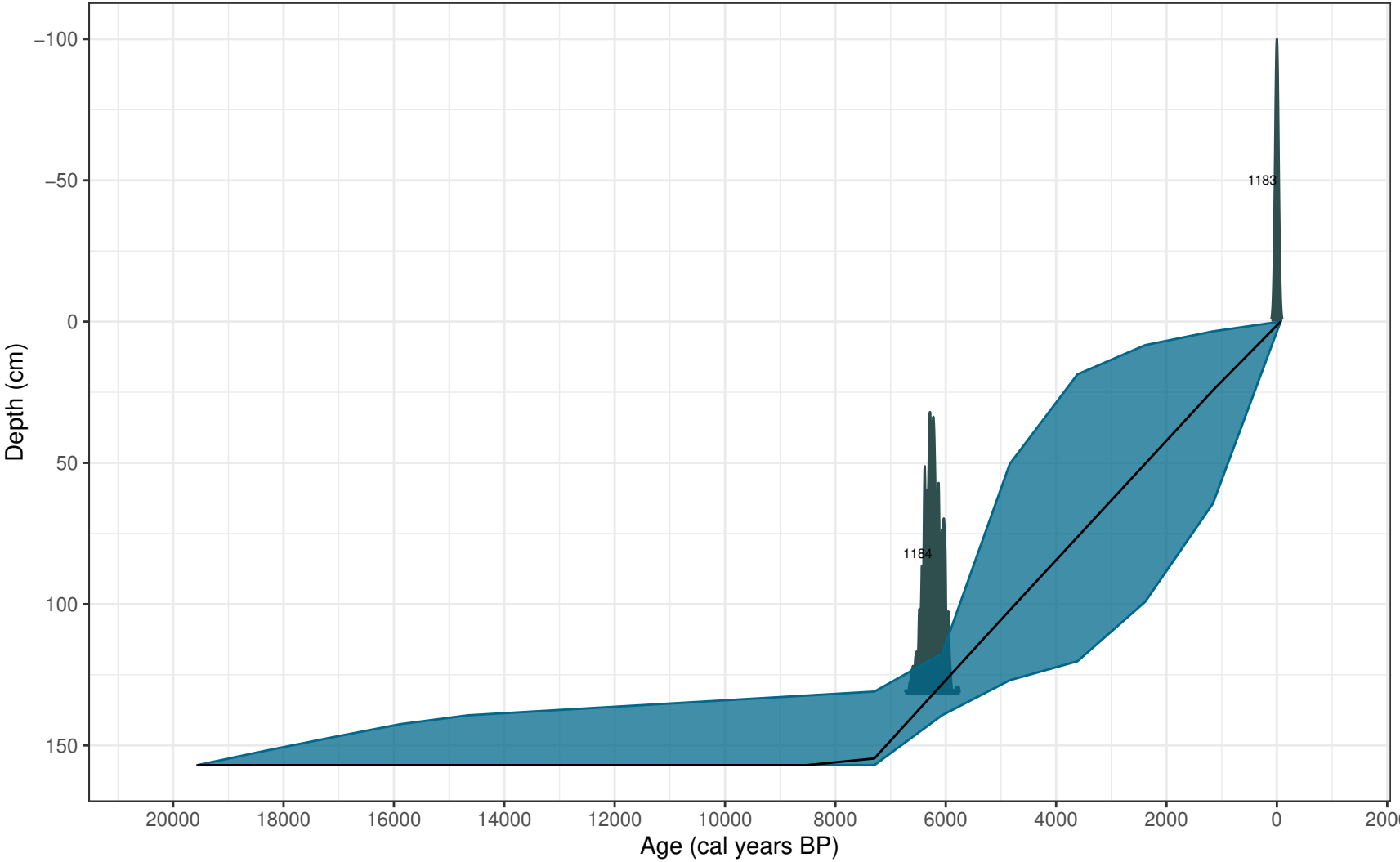

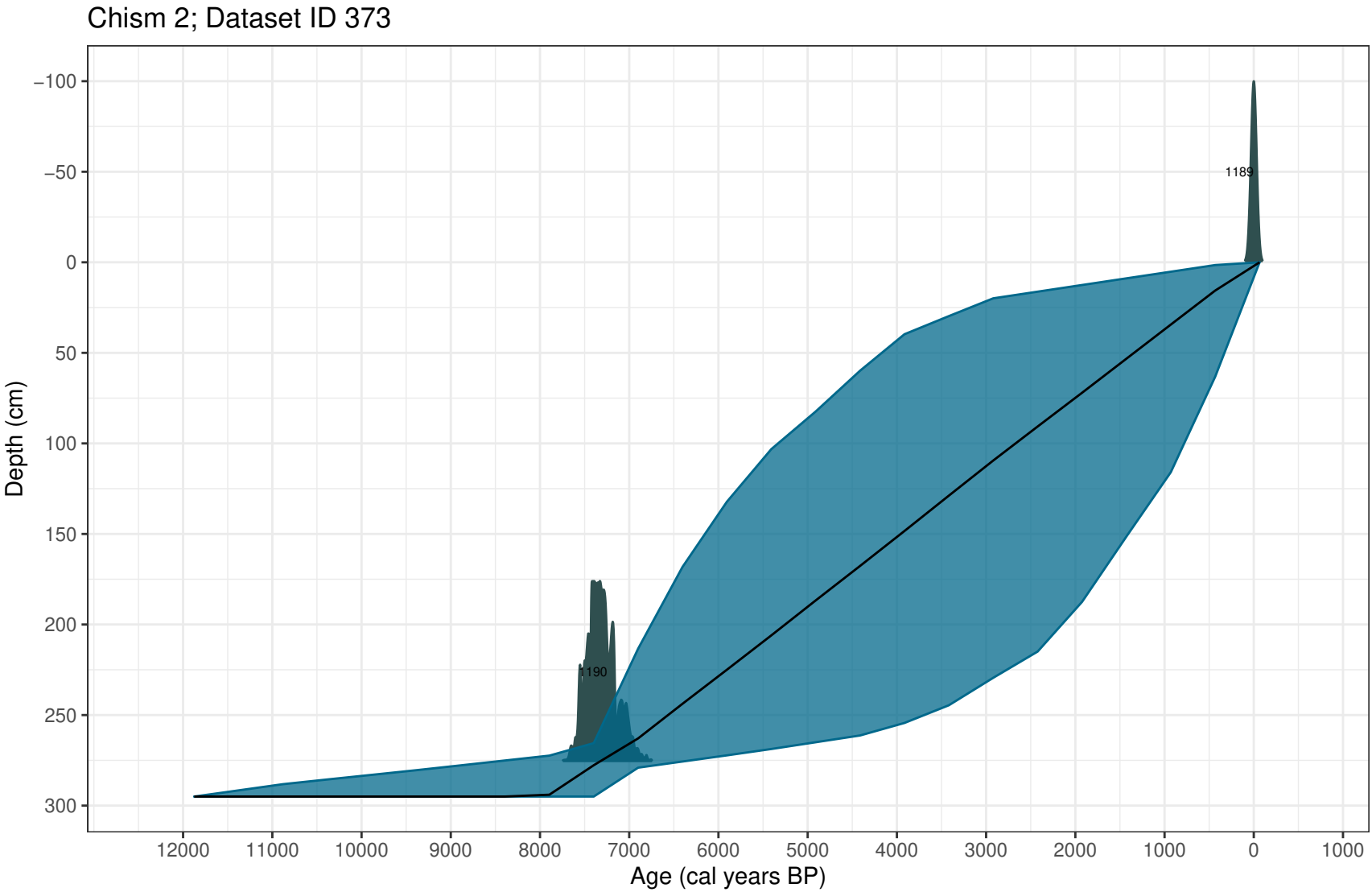
Chism 2; Dataset ID 373
Depth (cm)
−100
−50
0
50
100
150
200
250
300
1189
1190
12000
11000
10000
9000
8000
7000
6000
5000
4000
3000
2000
1000
0
1000
Age (cal years BP)

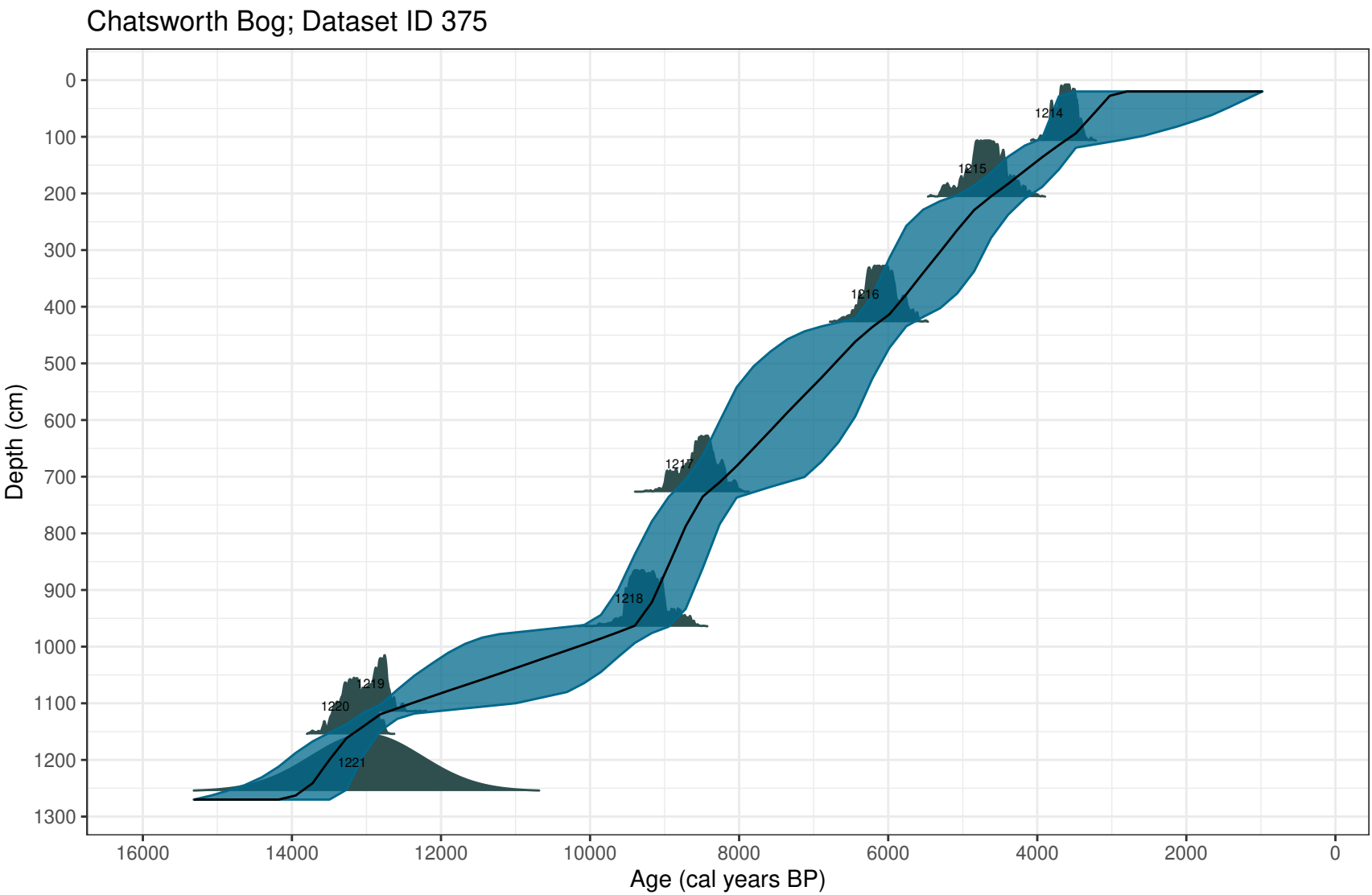
Chatsworth Bog; Dataset ID 375
Depth (cm)
0
100
200
300
400
500
600
700
800
900
1000
1100
1200
1300
Age (cal years BP)
16000
14000
12000
10000
8000
6000
4000
2000
0
1214
1215
1216
1217
1218
1219
1220
1221

Snow Lake; Dataset ID 3771

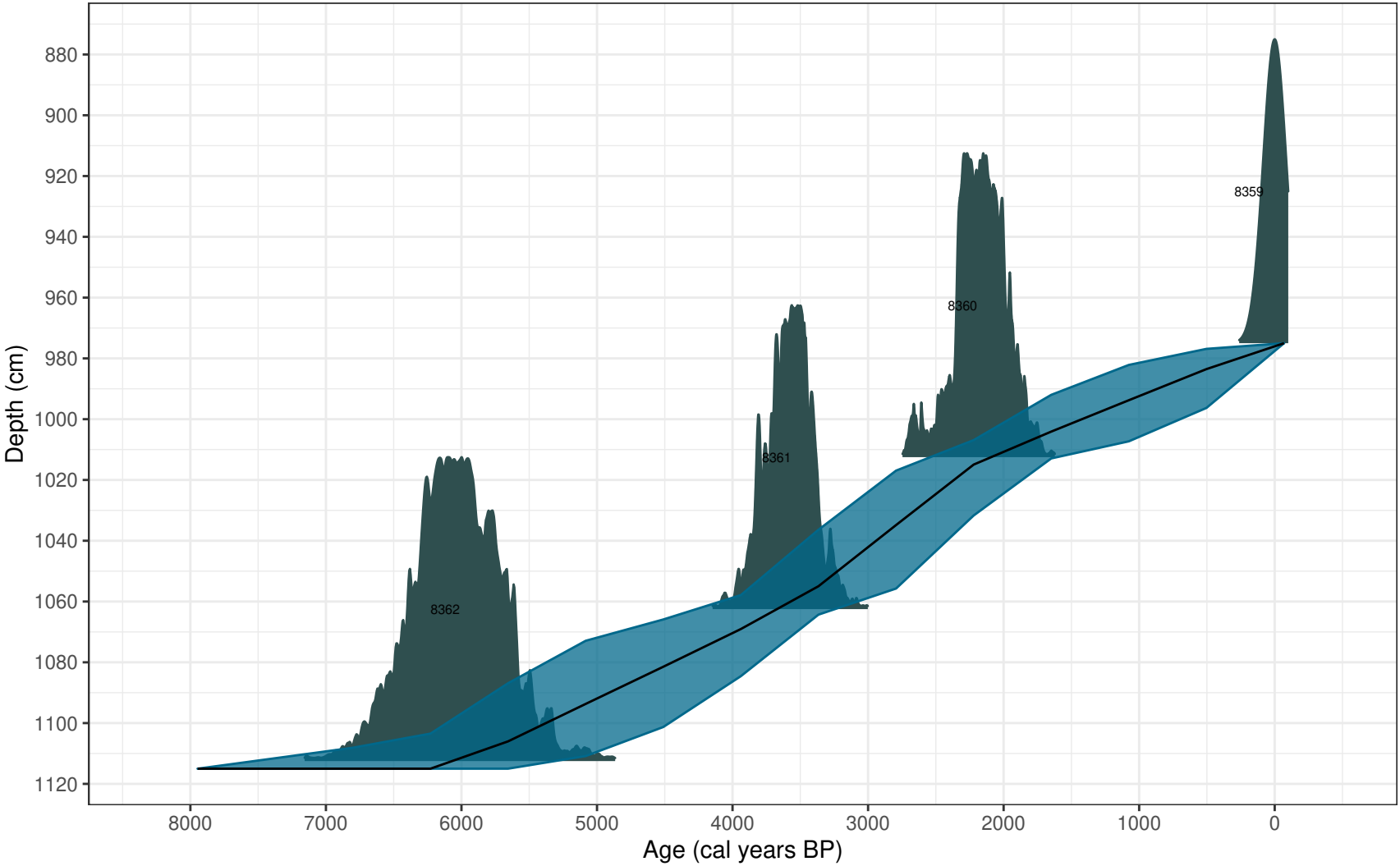

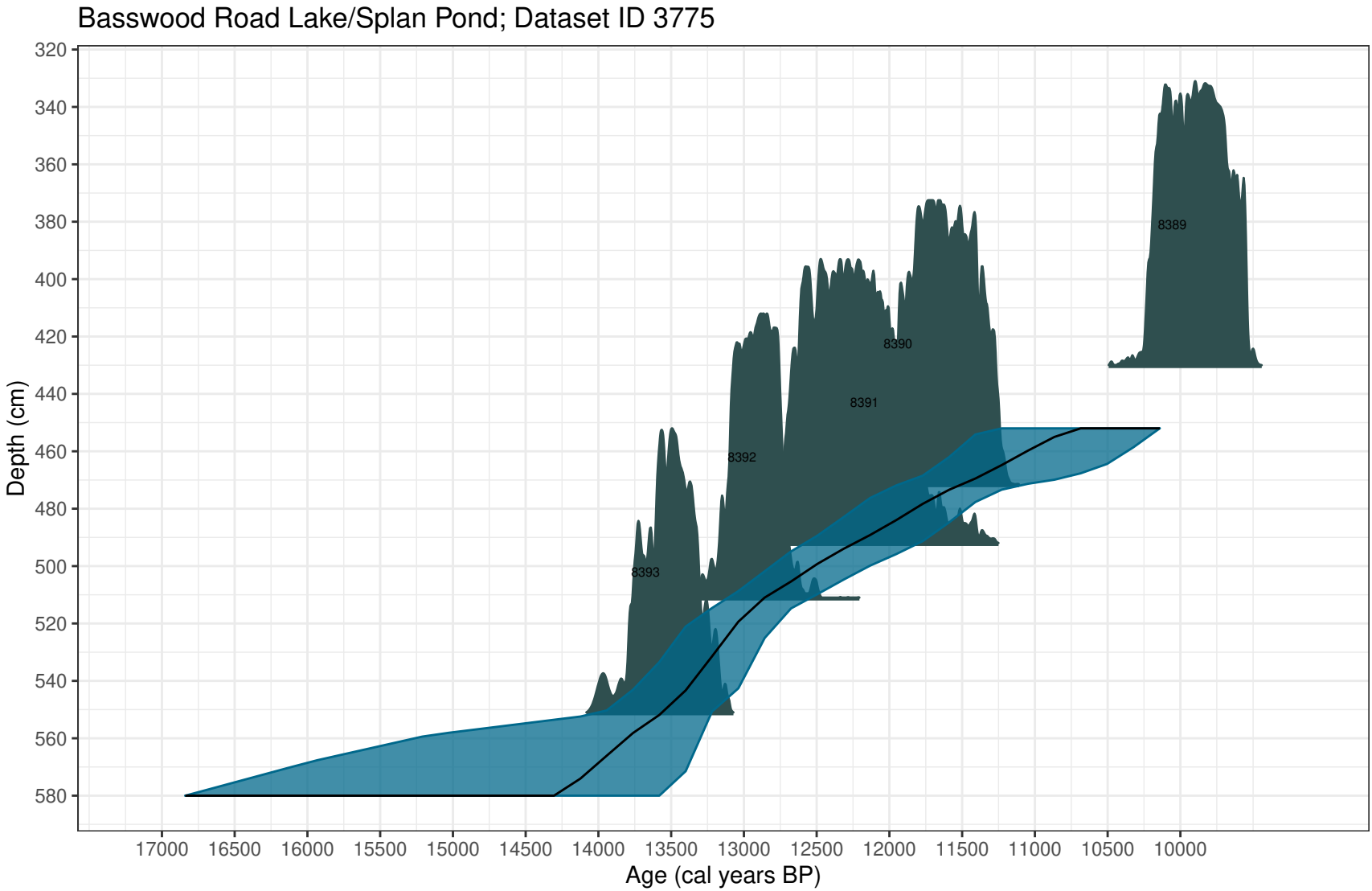
Basswood Road Lake/Splan Pond; Dataset ID 3775
Depth (cm)
320
340
360
380
400
420
440
460
480
500
520
540
560
580
8389
8390
8391
8392
8393
17000
16500
16000
15500
15000
14500
14000
13500
13000
12500
12000
11500
11000
10500
10000
Age (cal years BP)

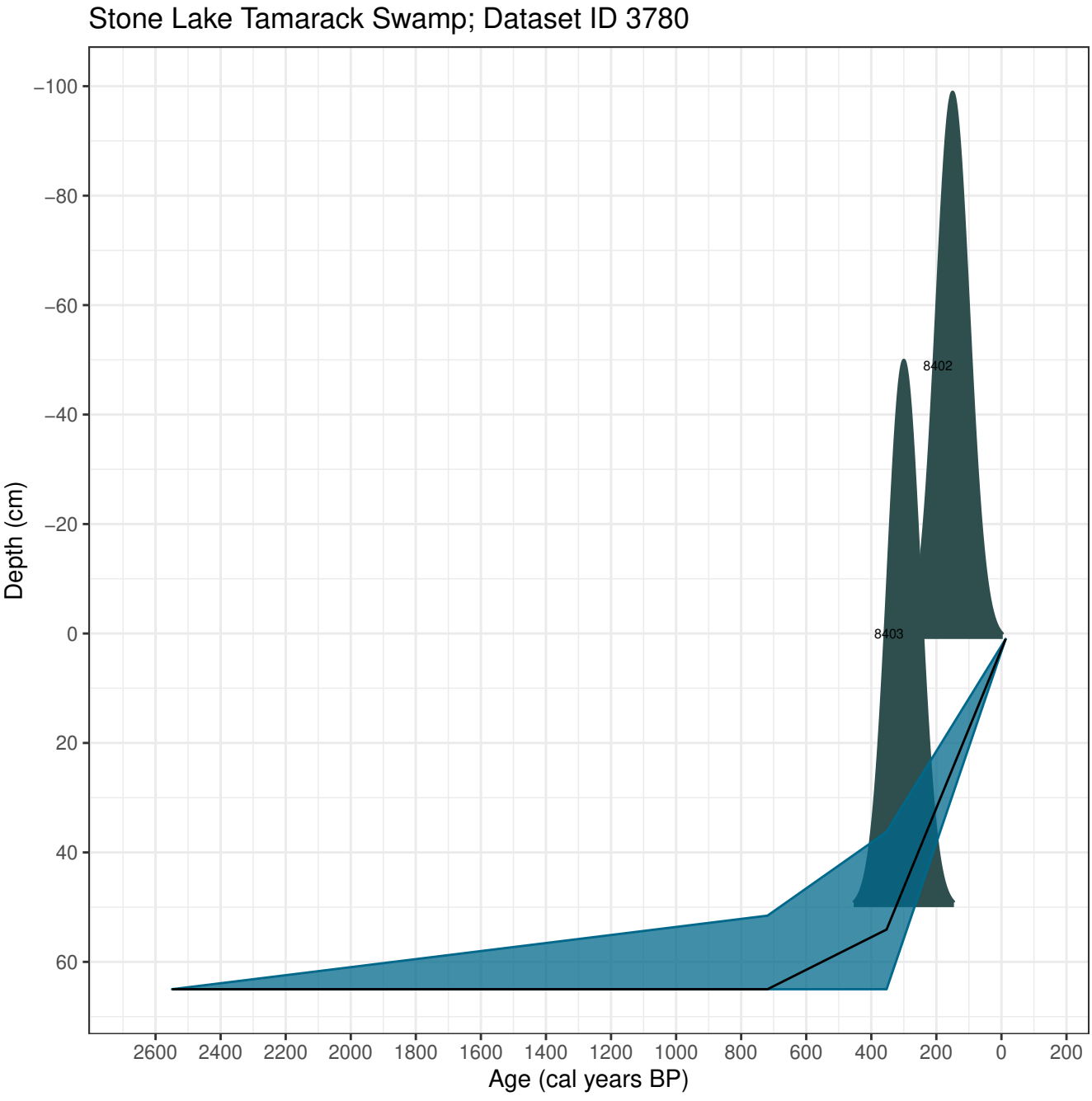
Stone Lake Tamarack Swamp; Dataset ID 3780
Depth (cm)
−100
−80
−60
−40
−20
0
20
40
60
8402
8403
2600
2400
2200
2000
1800
1600
1400
1200
1000
800
600
400
200
0
200
Age (cal years BP)

Taylor Creek Site 2; Dataset ID 3782

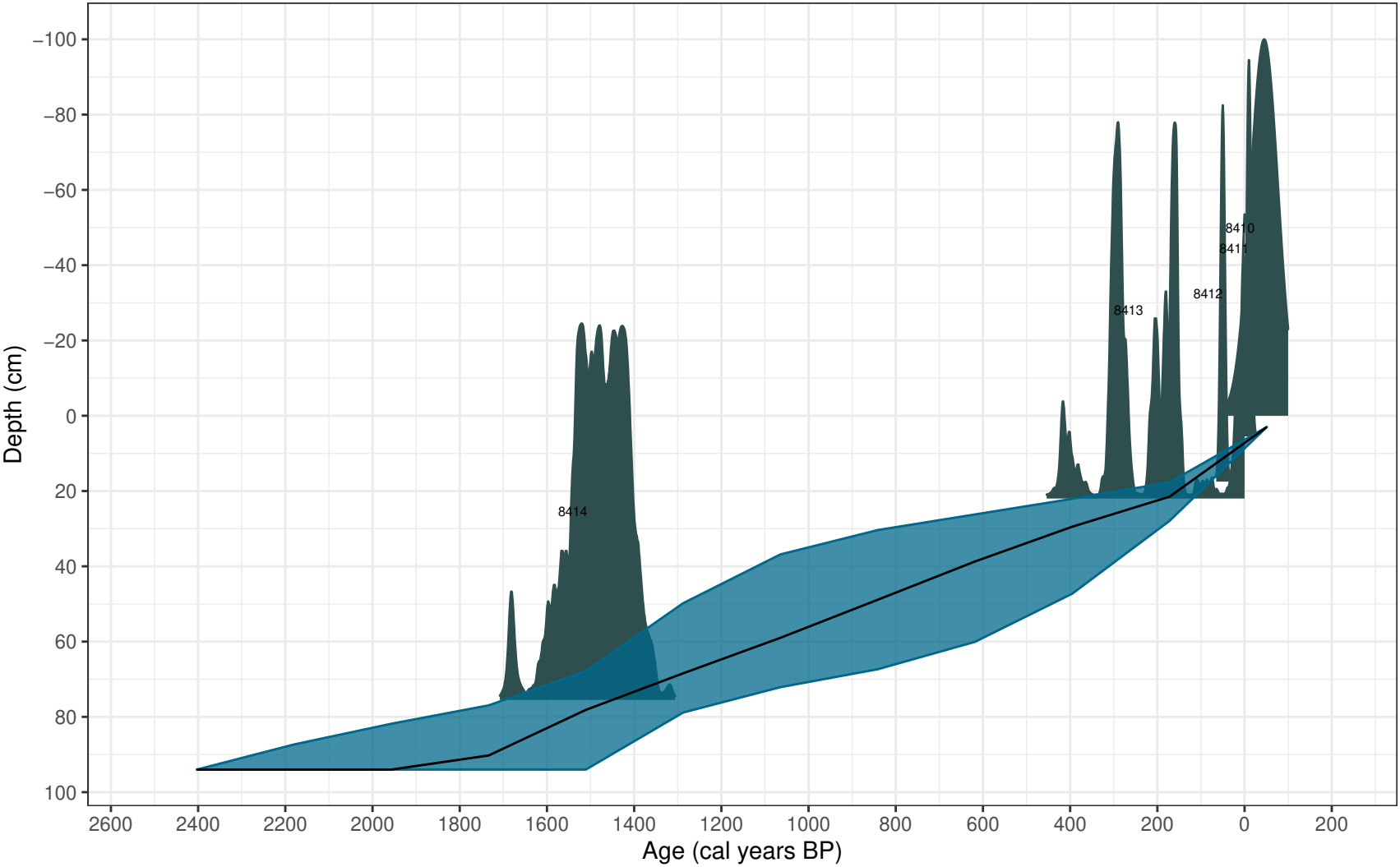

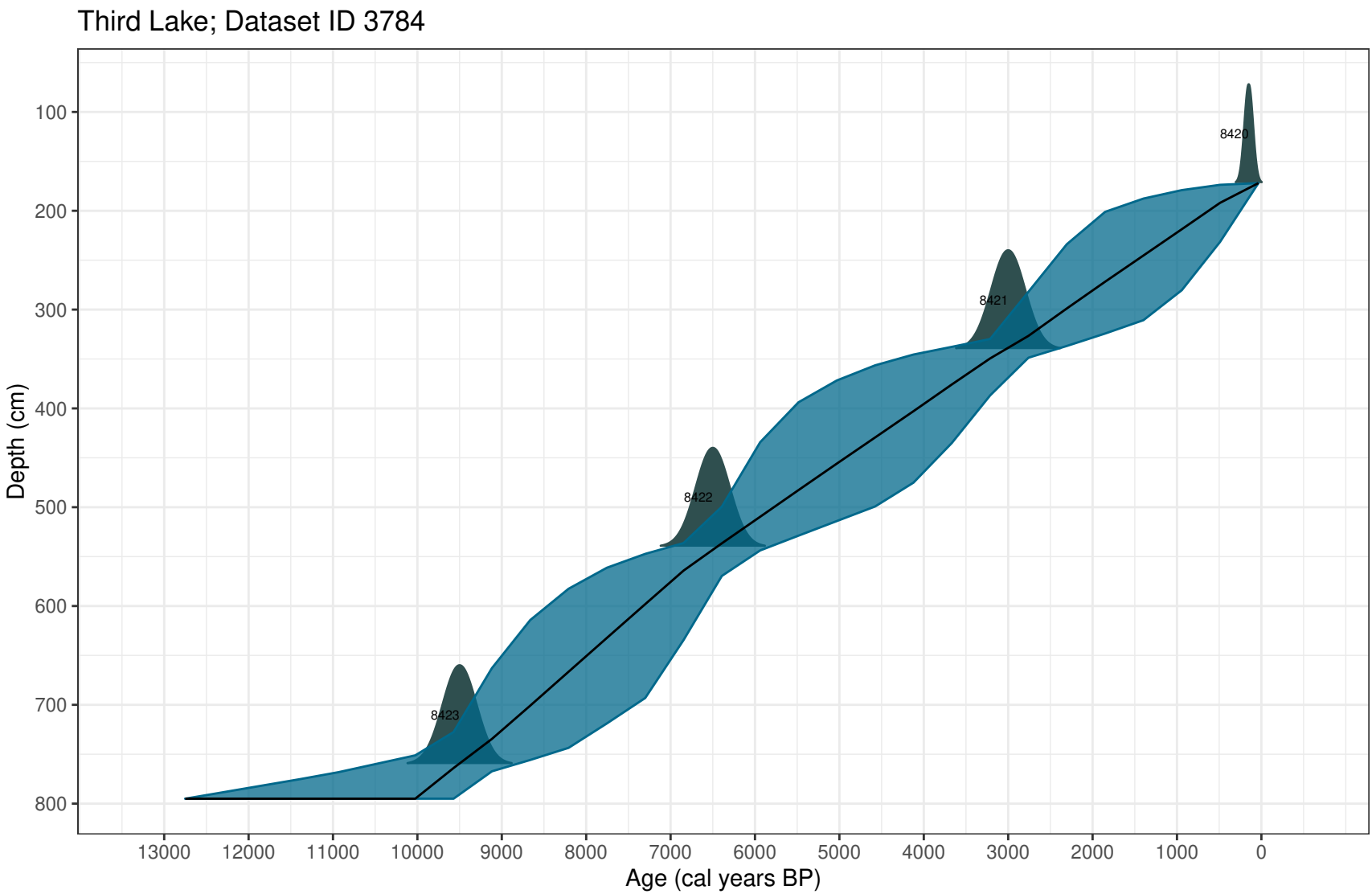
Third Lake; Dataset ID 3784
Depth (cm)
100
200
300
400
500
600
700
800
8420
8421
8422
8423
13000
12000
11000
10000
9000
8000
7000
6000
5000
4000
3000
2000
1000
0
Age (cal years BP)

Third Lake; Dataset ID 3786

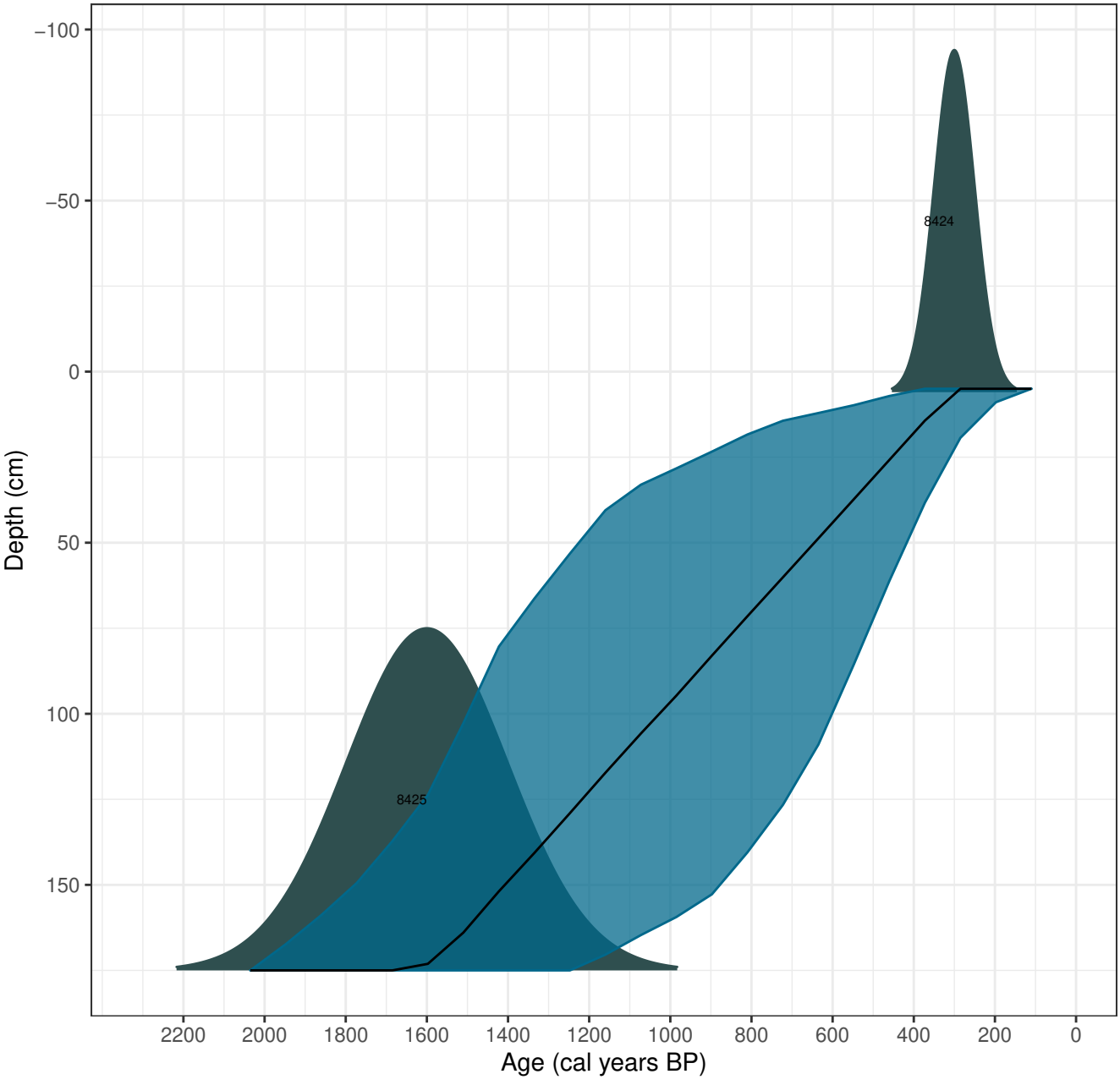

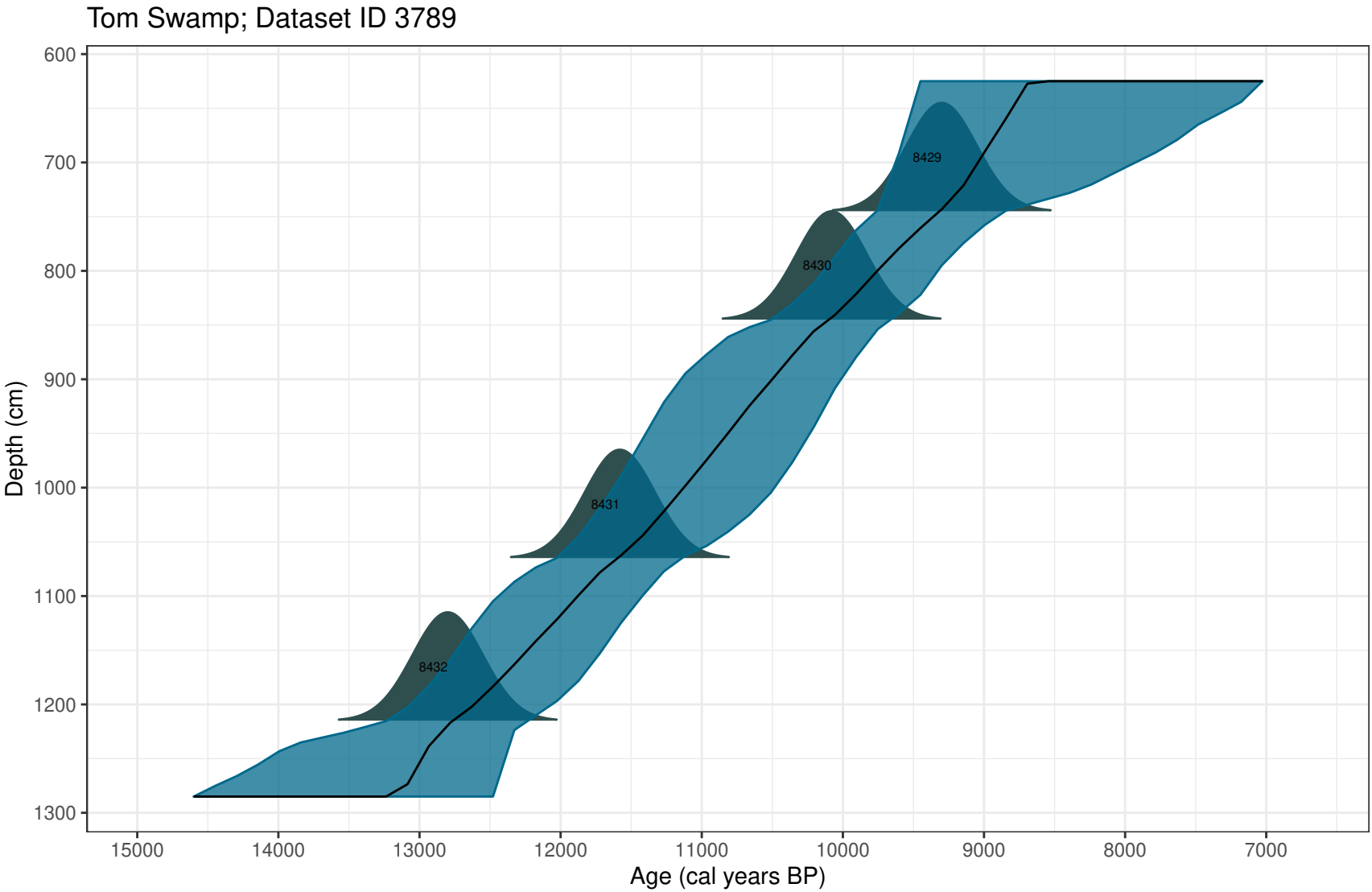
Tom Swamp; Dataset ID 3789
Depth (cm)
600
700
800
900
1000
1100
1200
1300
8429
8430
8431
8432
15000
14000
13000
12000
11000
10000
9000
8000
7000
Age (cal years BP)

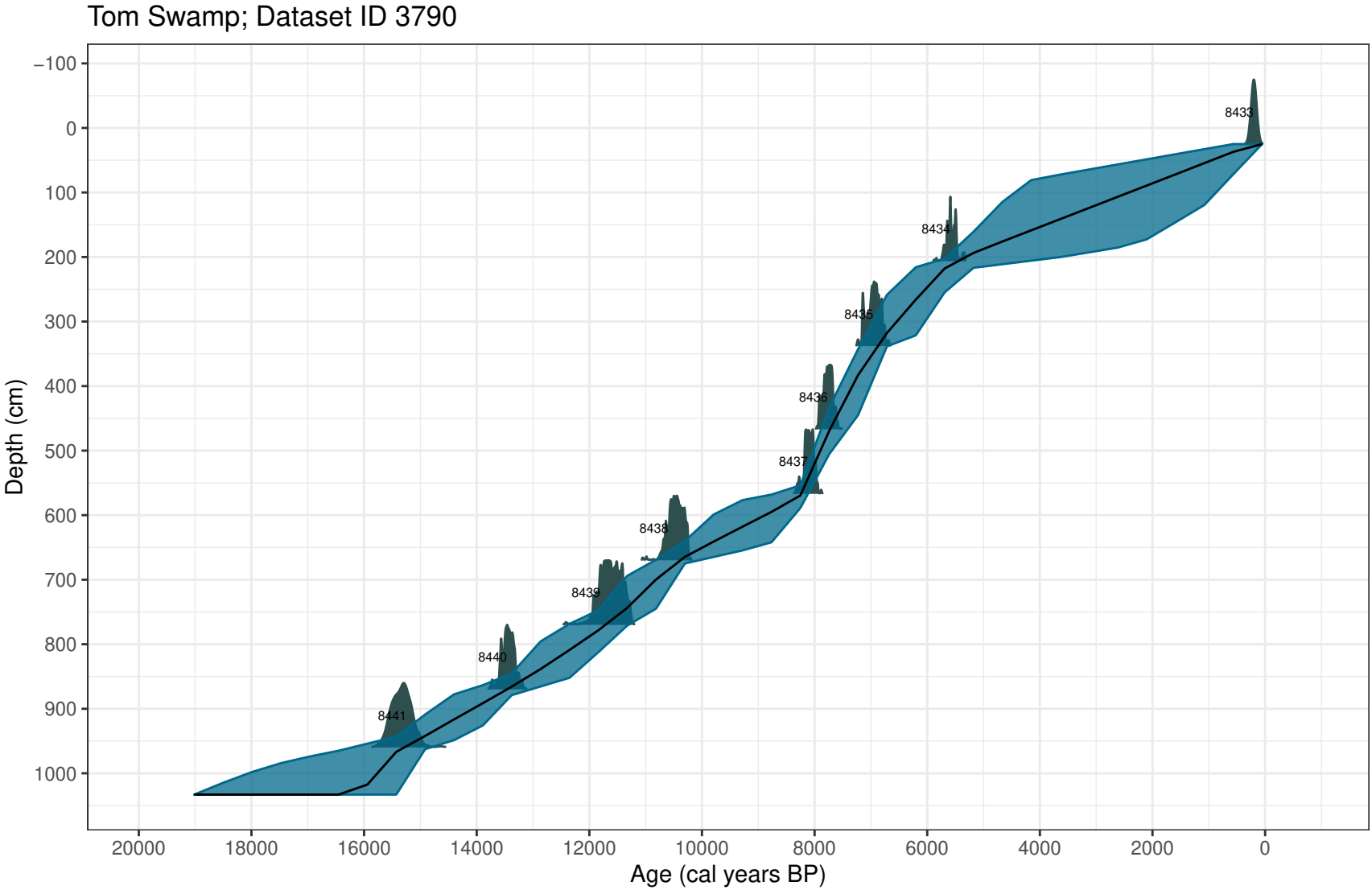
Tom Swamp; Dataset ID 3790
Depth (cm)
−100
0
100
200
300
400
500
600
700
800
900
1000
Age (cal years BP)
20000
18000
16000
14000
12000
10000
8000
6000
4000
2000
0
8433
8434
8435
8436
8437
8438
8439
8440
8441

Lac Ciel Blanc; Dataset ID 381

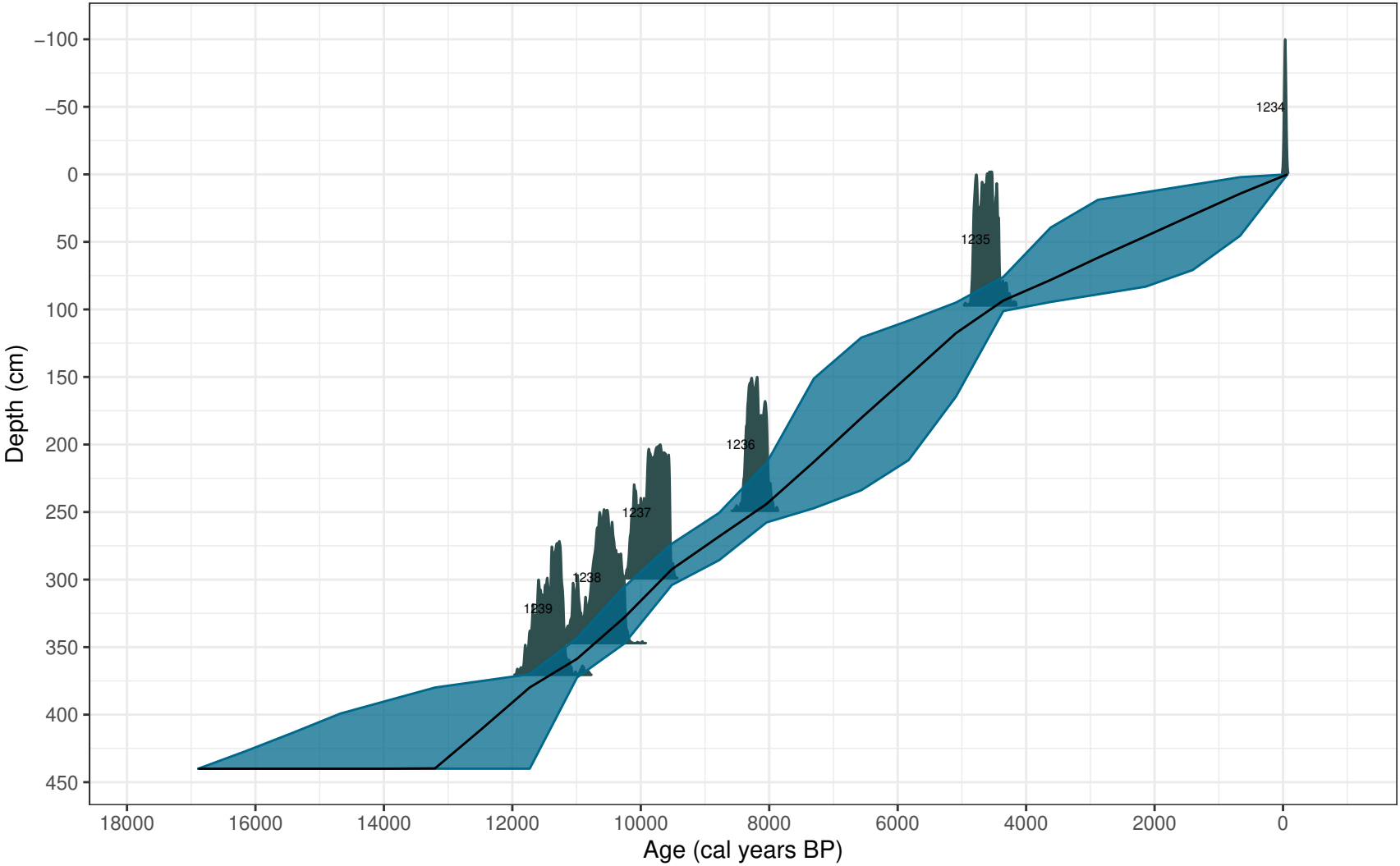

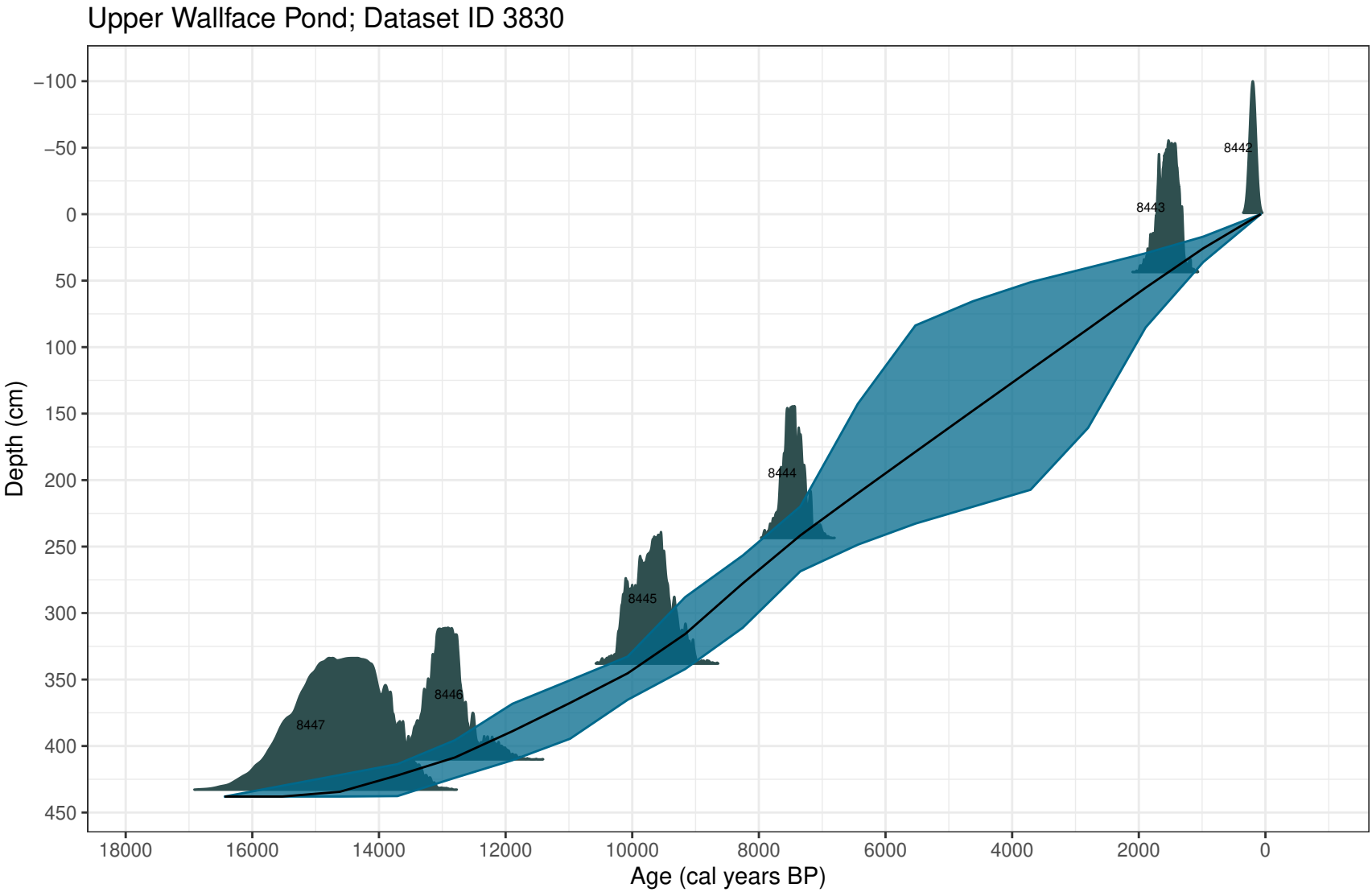
Upper Wallface Pond; Dataset ID 3830
Depth (cm)
−100
−50
0
50
100
150
200
250
300
350
400
450
Age (cal years BP)
18000
16000
14000
12000
10000
8000
6000
4000
2000
0
8442
8443
8444
8445
8446
8447

Vestaburg Bog; Dataset ID 3831

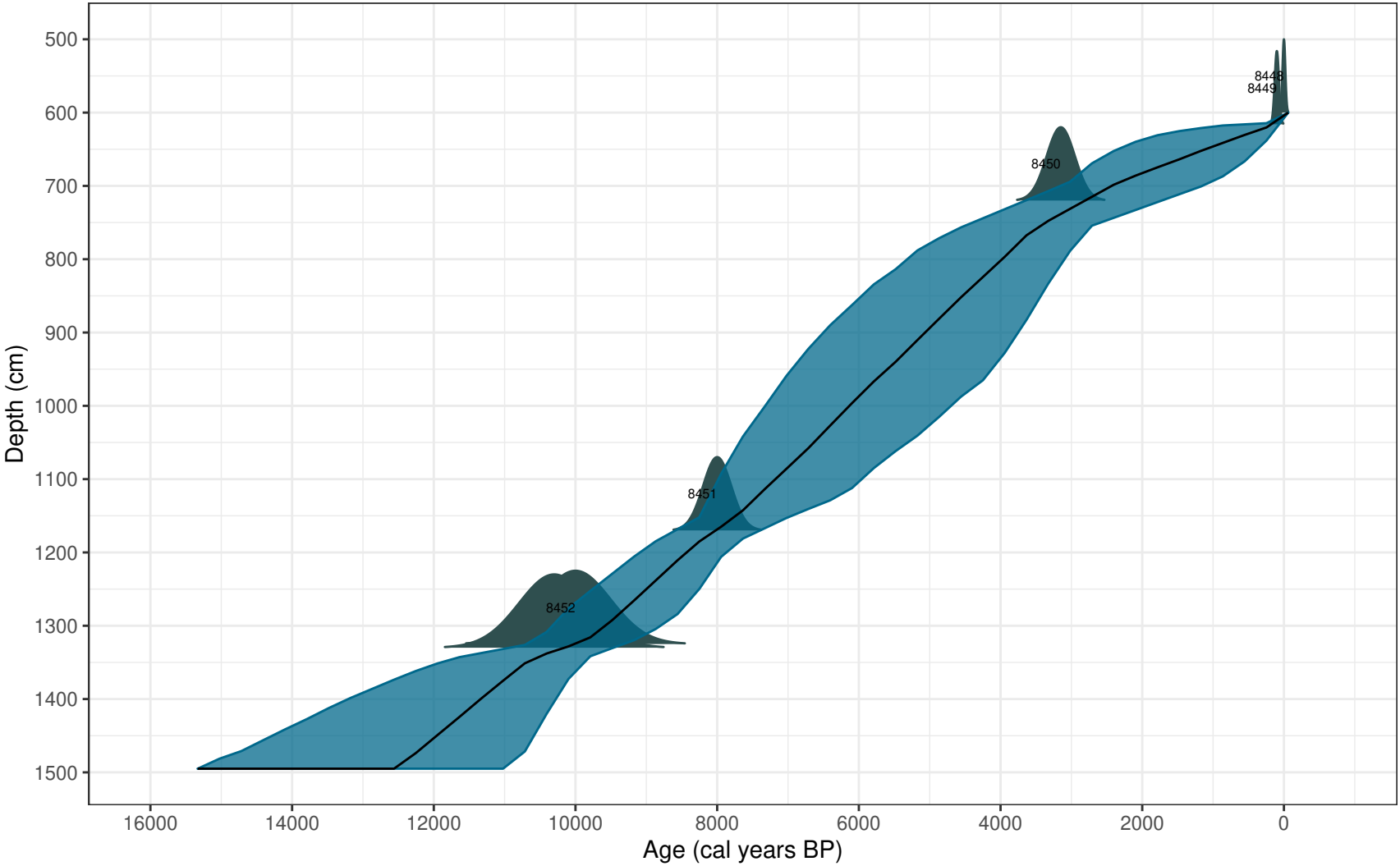

Weber Lake; Dataset ID 3837

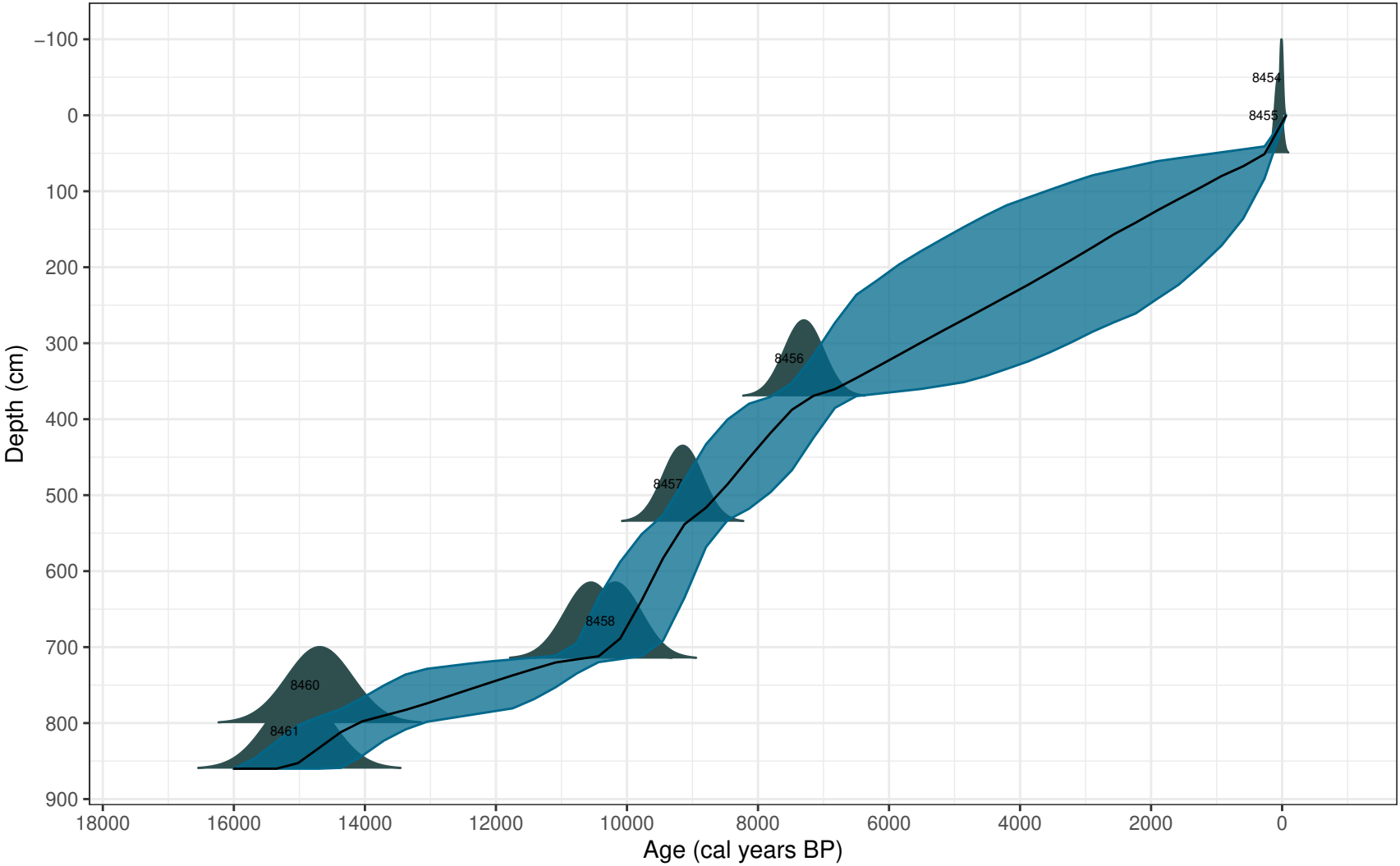

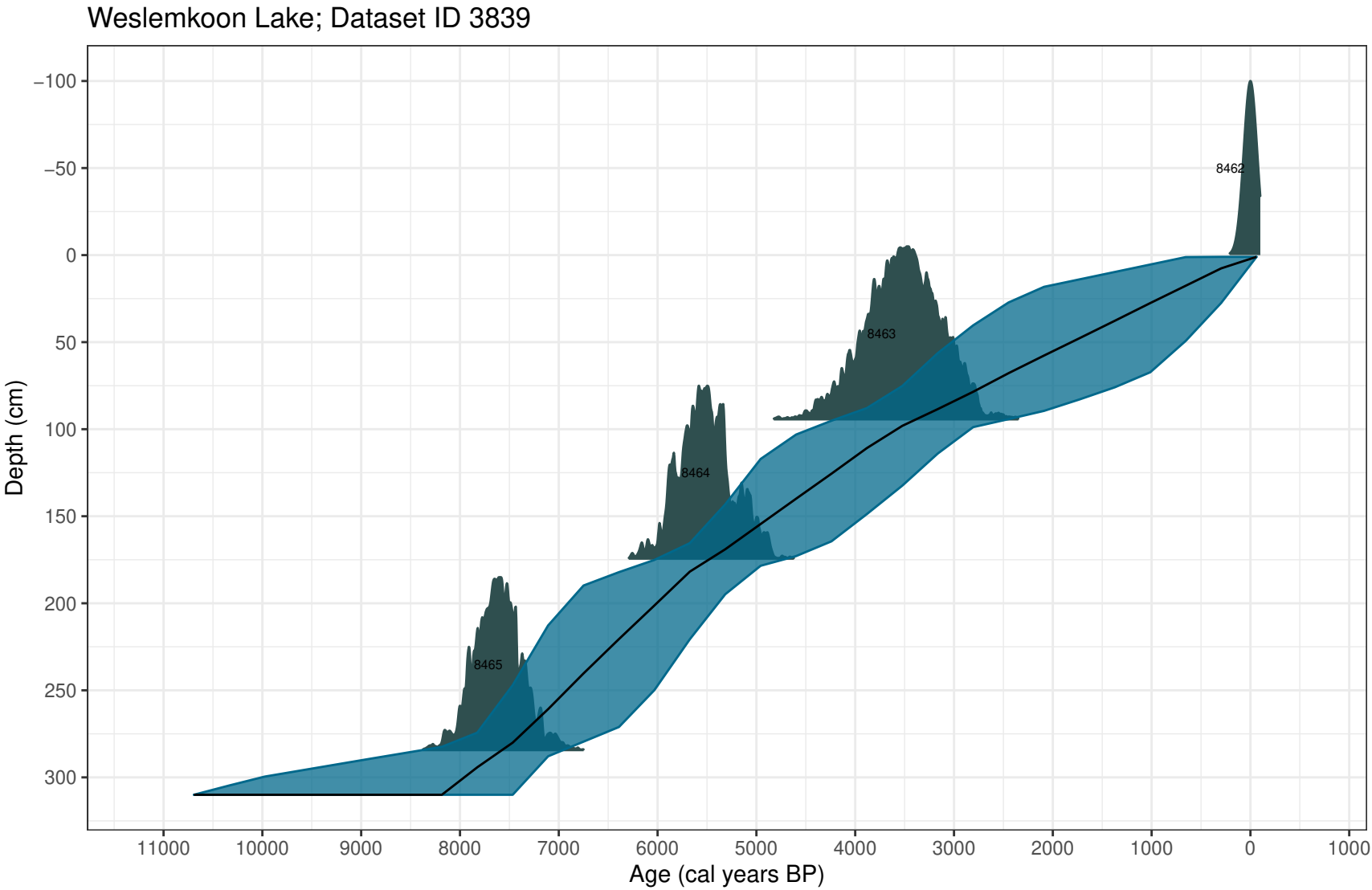
Weslemkoon Lake; Dataset ID 3839
Depth (cm)
−100
−50
0
50
100
150
200
250
300
Age (cal years BP)
11000
10000
9000
8000
7000
6000
5000
4000
3000
2000
1000
0
1000
8462
8463
8464
8465

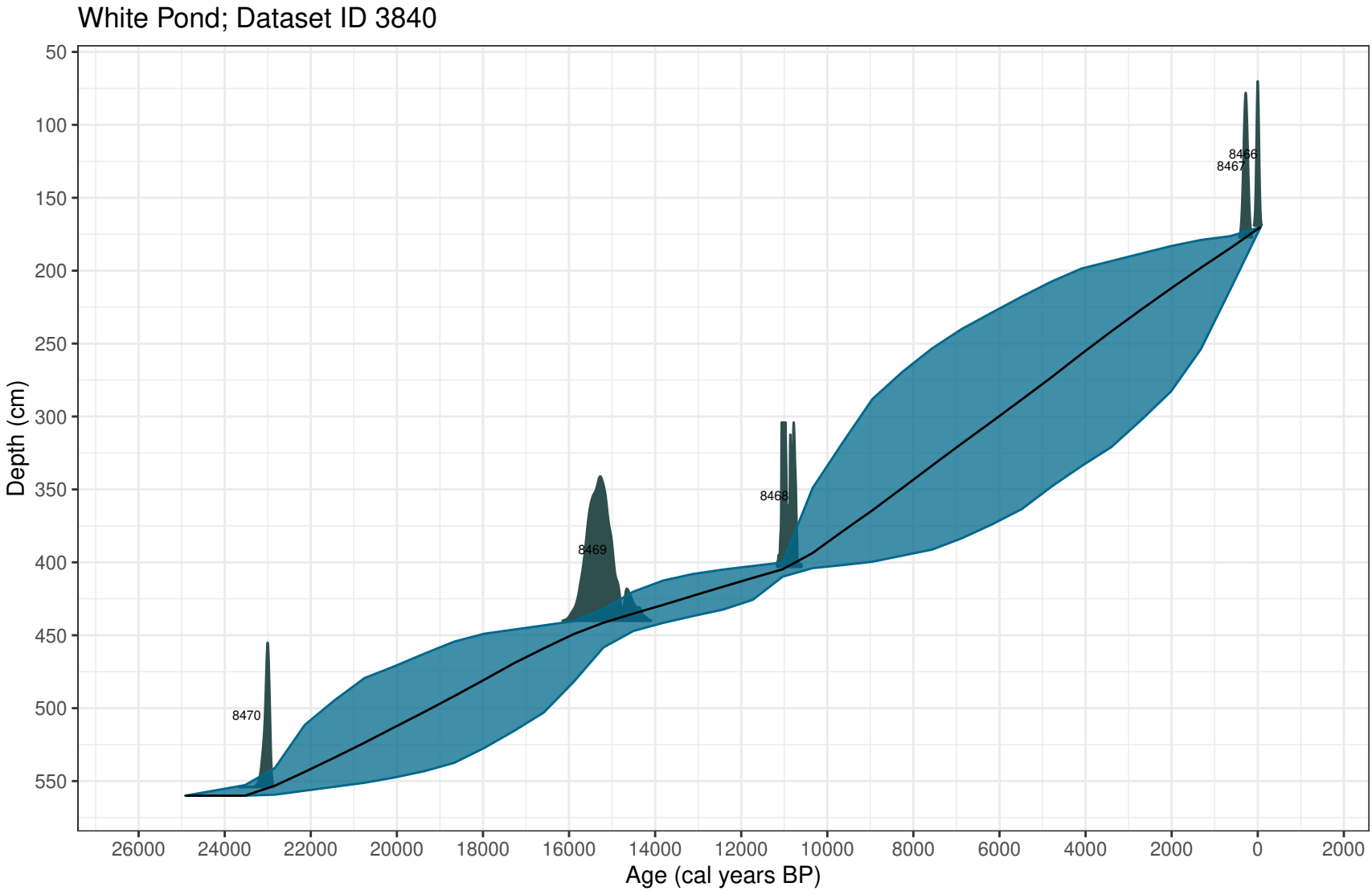
White Pond; Dataset ID 3840
Depth (cm)
Age (cal years BP)
8466
8467
8468
8469
8470
50
100
150
200
250
300
350
400
450
500
550
26000
24000
22000
20000
18000
16000
14000
12000
10000
8000
6000
4000
2000
0
2000

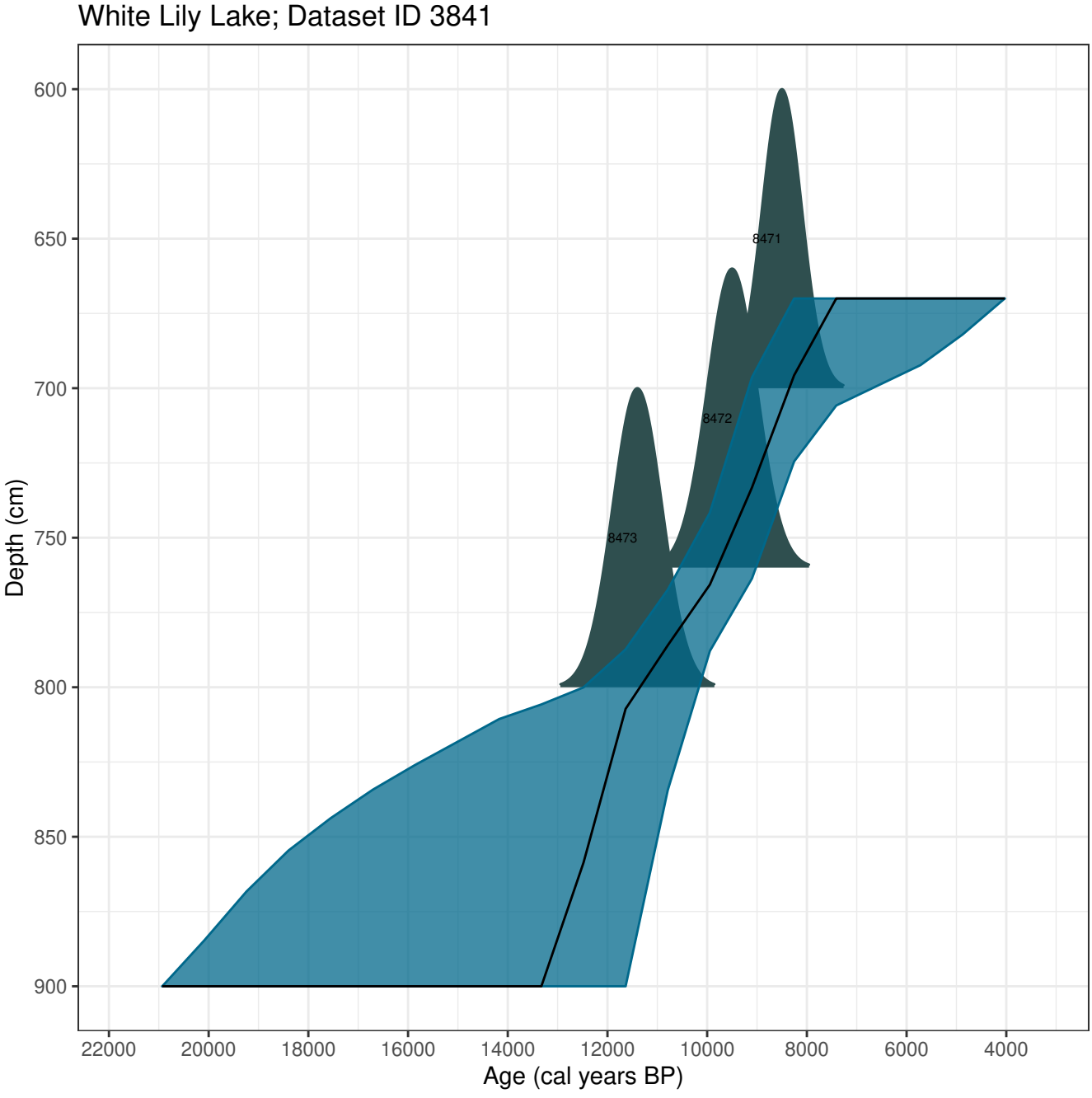
White Lily Lake; Dataset ID 3841
Depth (cm)
600
650
700
750
800
850
900
8471
8472
8473
22000
20000
18000
16000
14000
12000
10000
8000
6000
4000
Age (cal years BP)

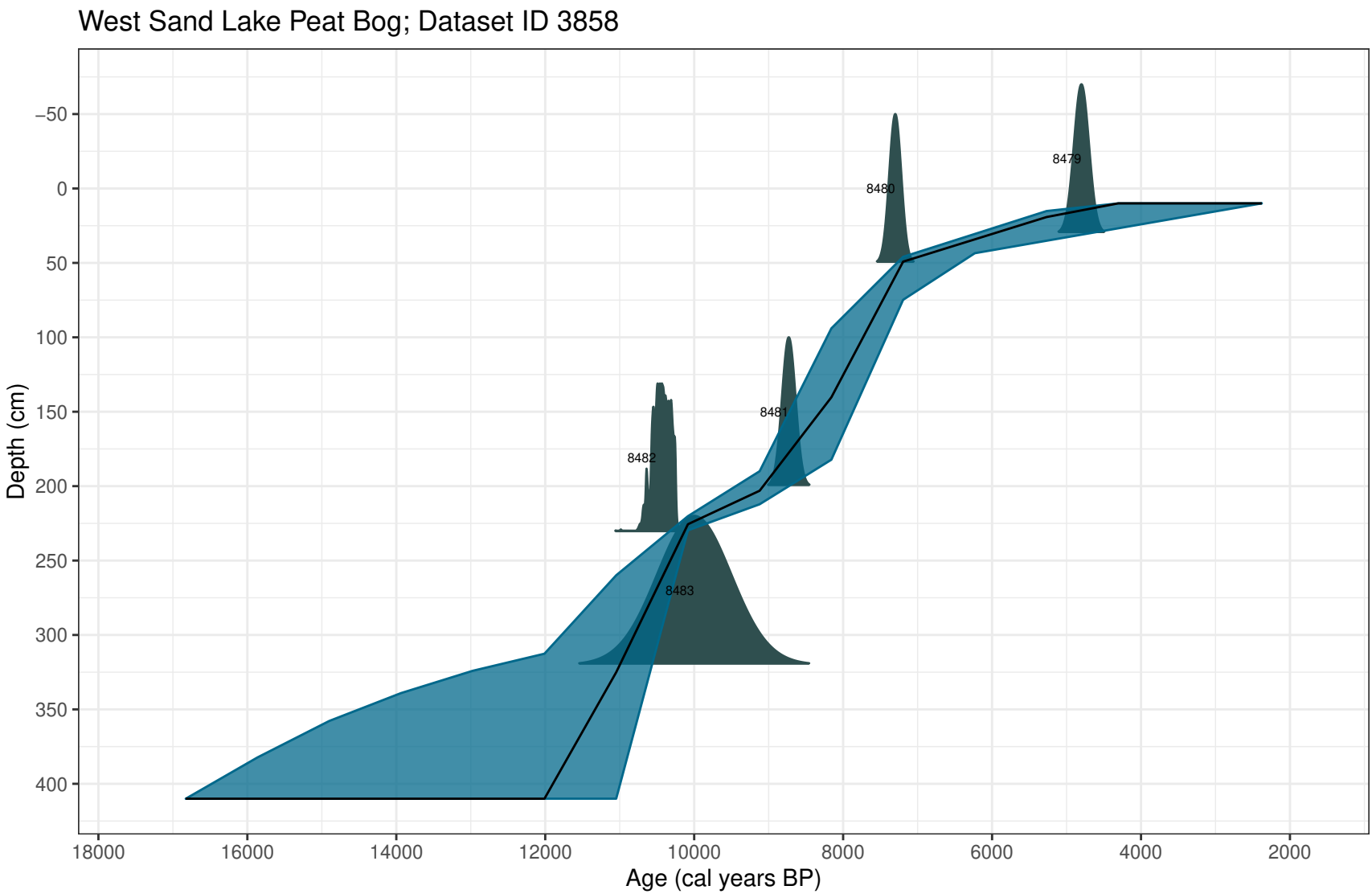
West Sand Lake Peat Bog; Dataset ID 3858
Depth (cm)
−50
0
50
100
150
200
250
300
350
400
8479
8480
8481
8482
8483
18000
16000
14000
12000
10000
8000
6000
4000
2000
Age (cal years BP)

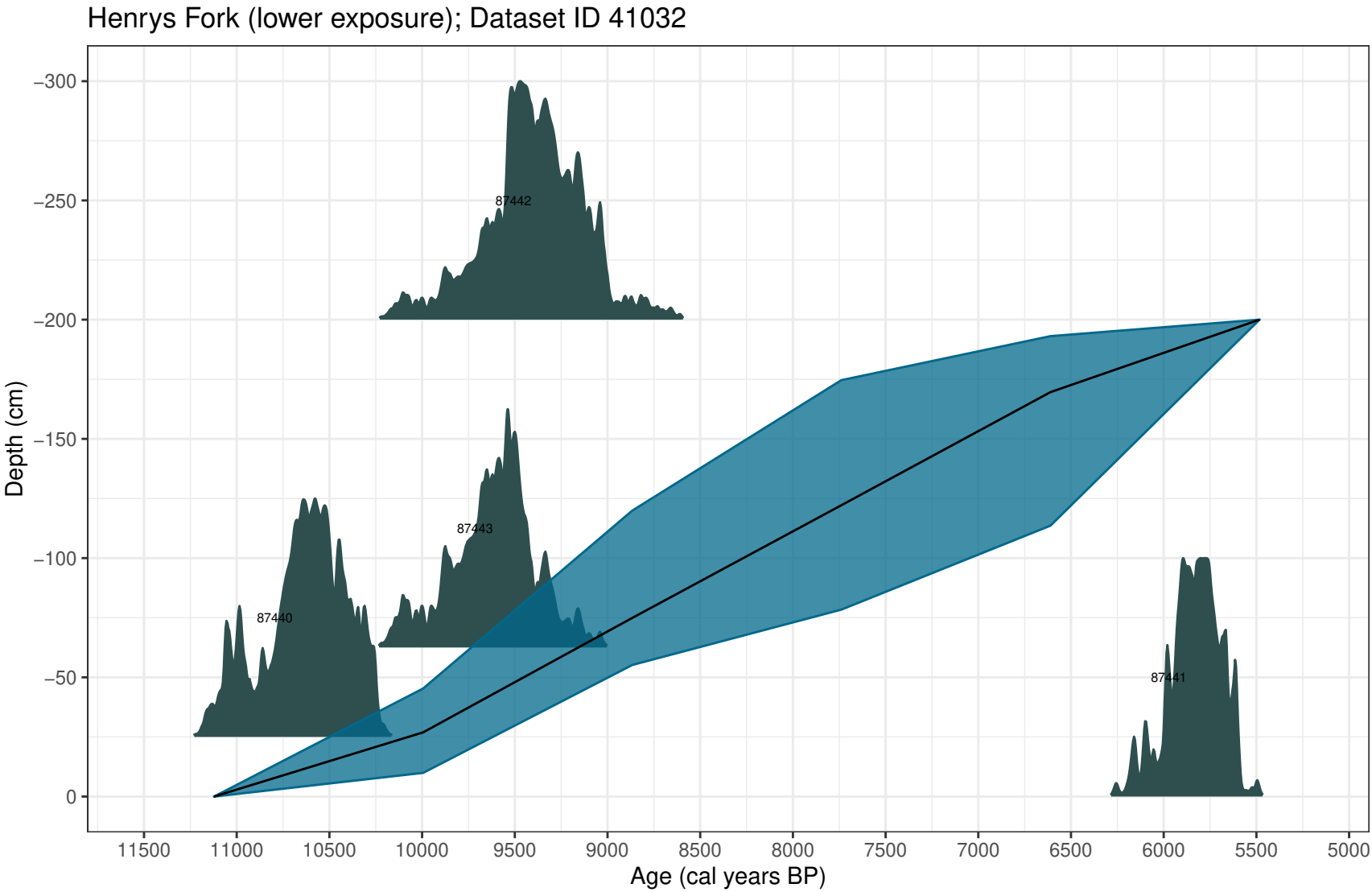
Henrys Fork (lower exposure); Dataset ID 41032
Depth (cm)
−300
−250
−200
−150
−100
−50
0
87442
87443
87440
87441
11500
11000
10500
10000
9500
9000
8500
8000
7500
7000
6500
6000
5500
5000
Age (cal years BP)

Henrys Fork (upper exposure); Dataset ID 41034

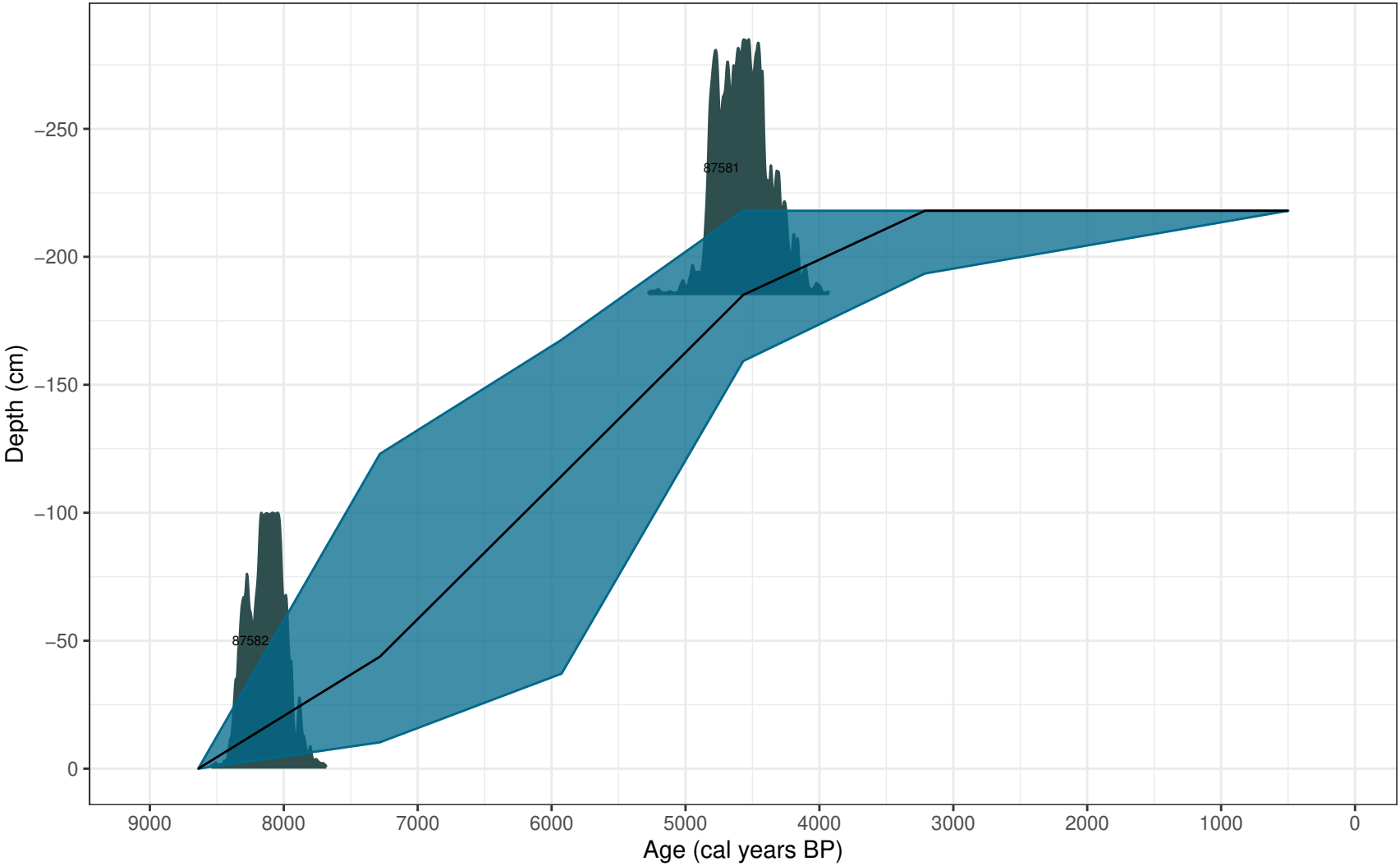

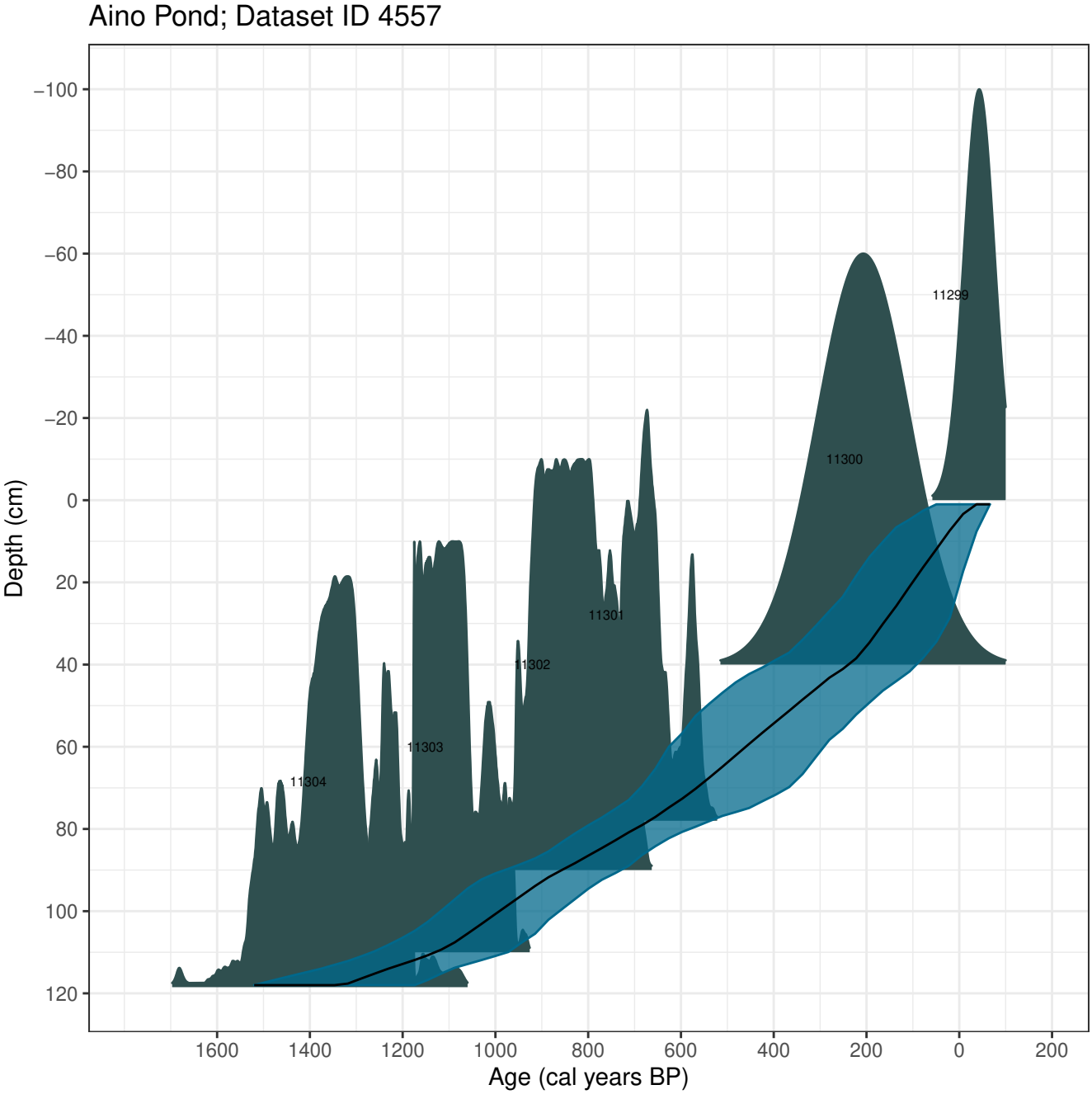
Aino Pond; Dataset ID 4557
Depth (cm)
−100
−80
−60
−40
−20
0
20
40
60
80
100
120
Age (cal years BP)
1600
1400
1200
1000
800
600
400
200
0
200
11299
11300
11301
11302
11303
11304

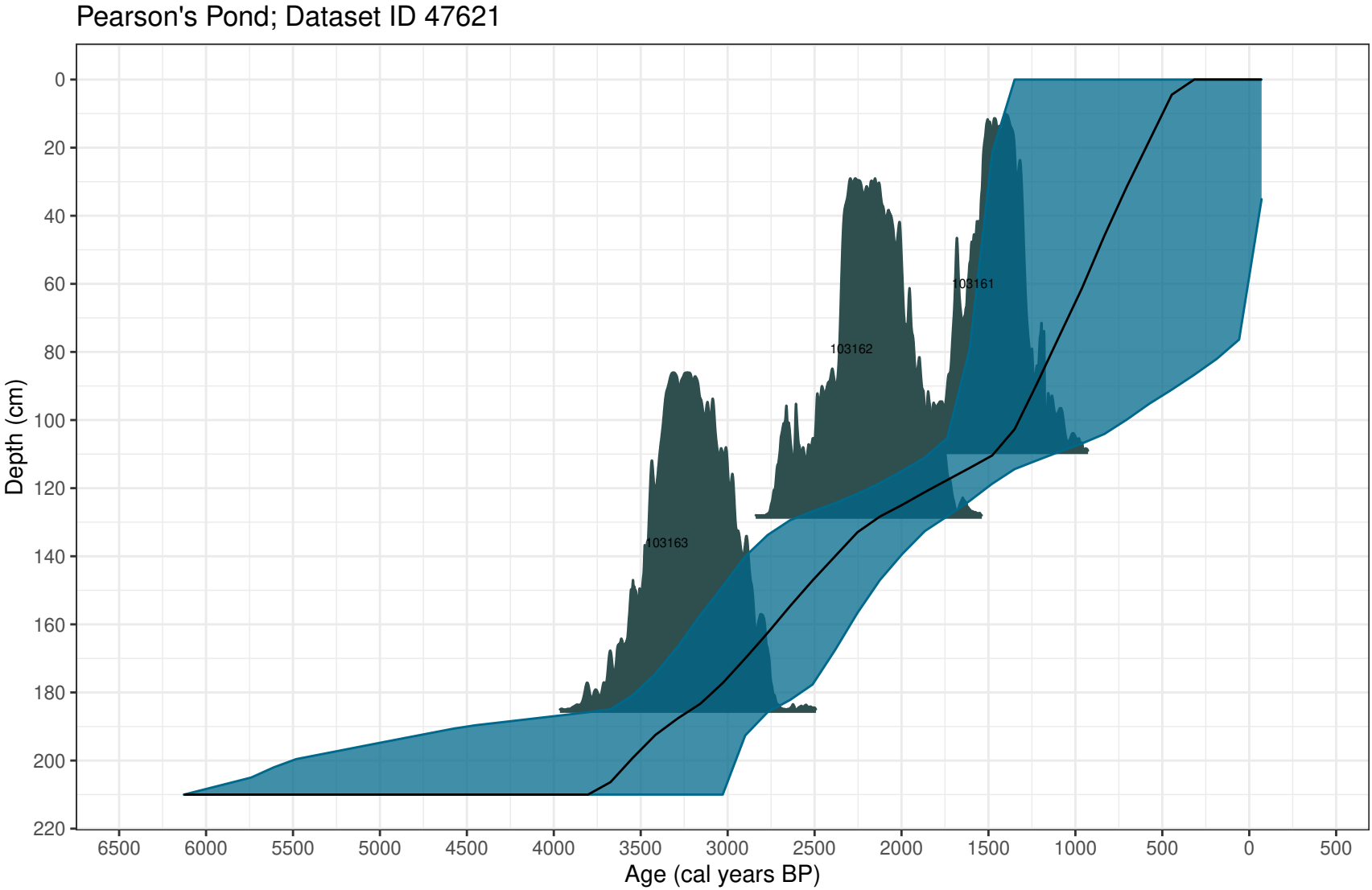
Pearson's Pond; Dataset ID 47621
Depth (cm)
0
20
40
60
80
100
120
140
160
180
200
220
Age (cal years BP)
6500
6000
5500
5000
4500
4000
3500
3000
2500
2000
1500
1000
500
0
500
103161
103162
103163

Clear Lake; Dataset ID 489

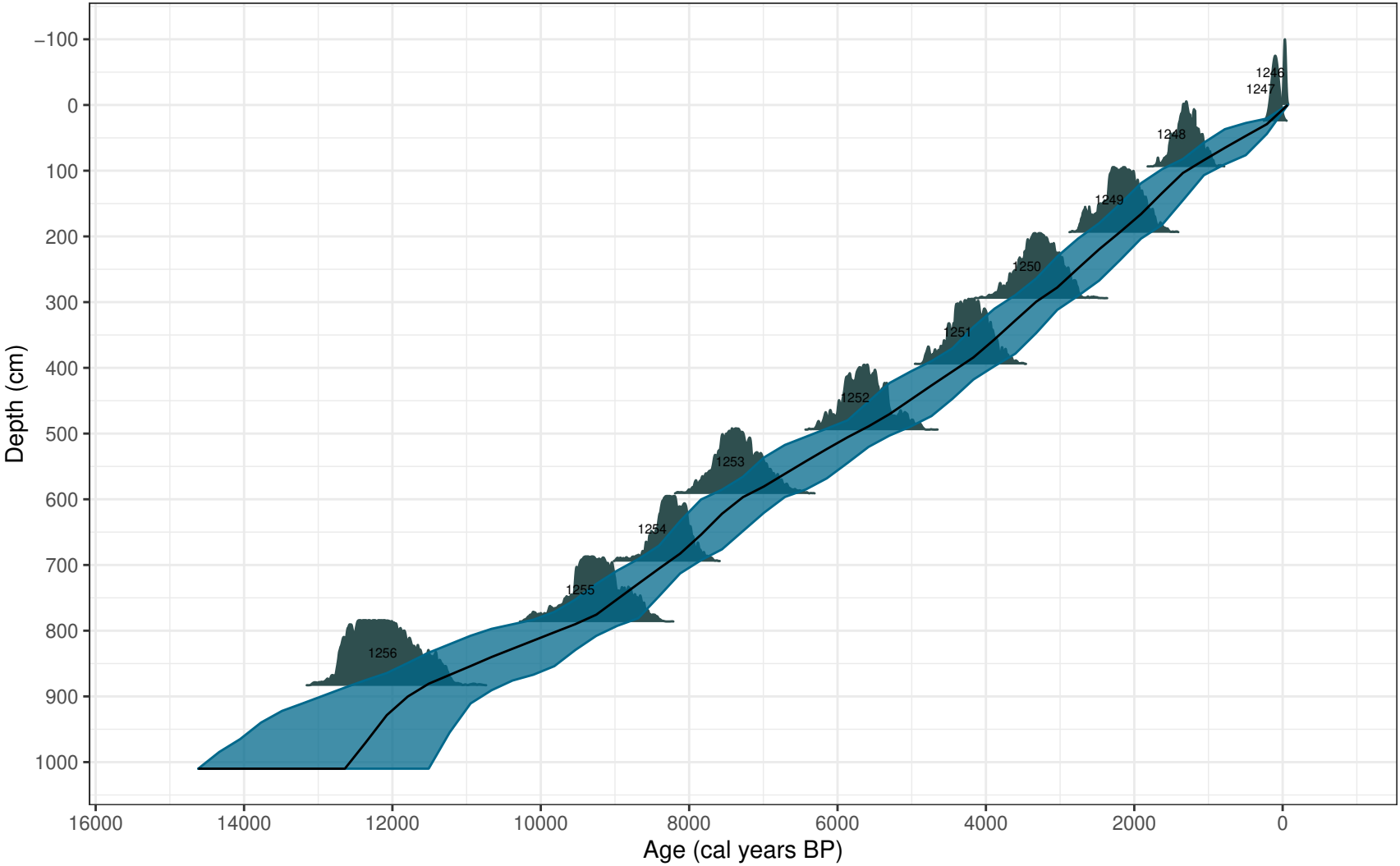

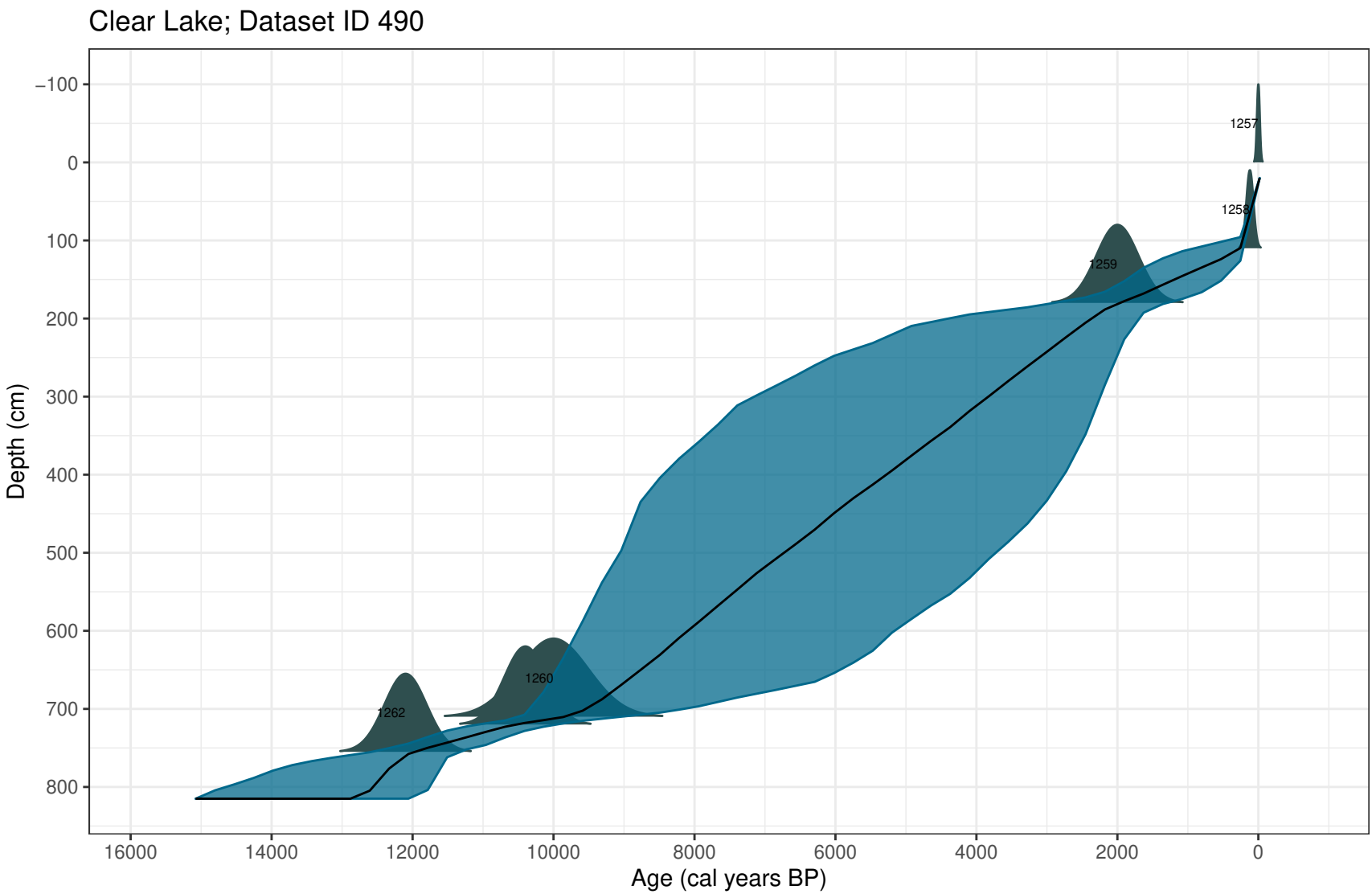
Clear Lake; Dataset ID 490
Depth (cm)
−100
0
100
200
300
400
500
600
700
800
16000
14000
12000
10000
8000
6000
4000
2000
0
Age (cal years BP)
1257
1258
1259
1260
1262

Clear Pond; Dataset ID 492

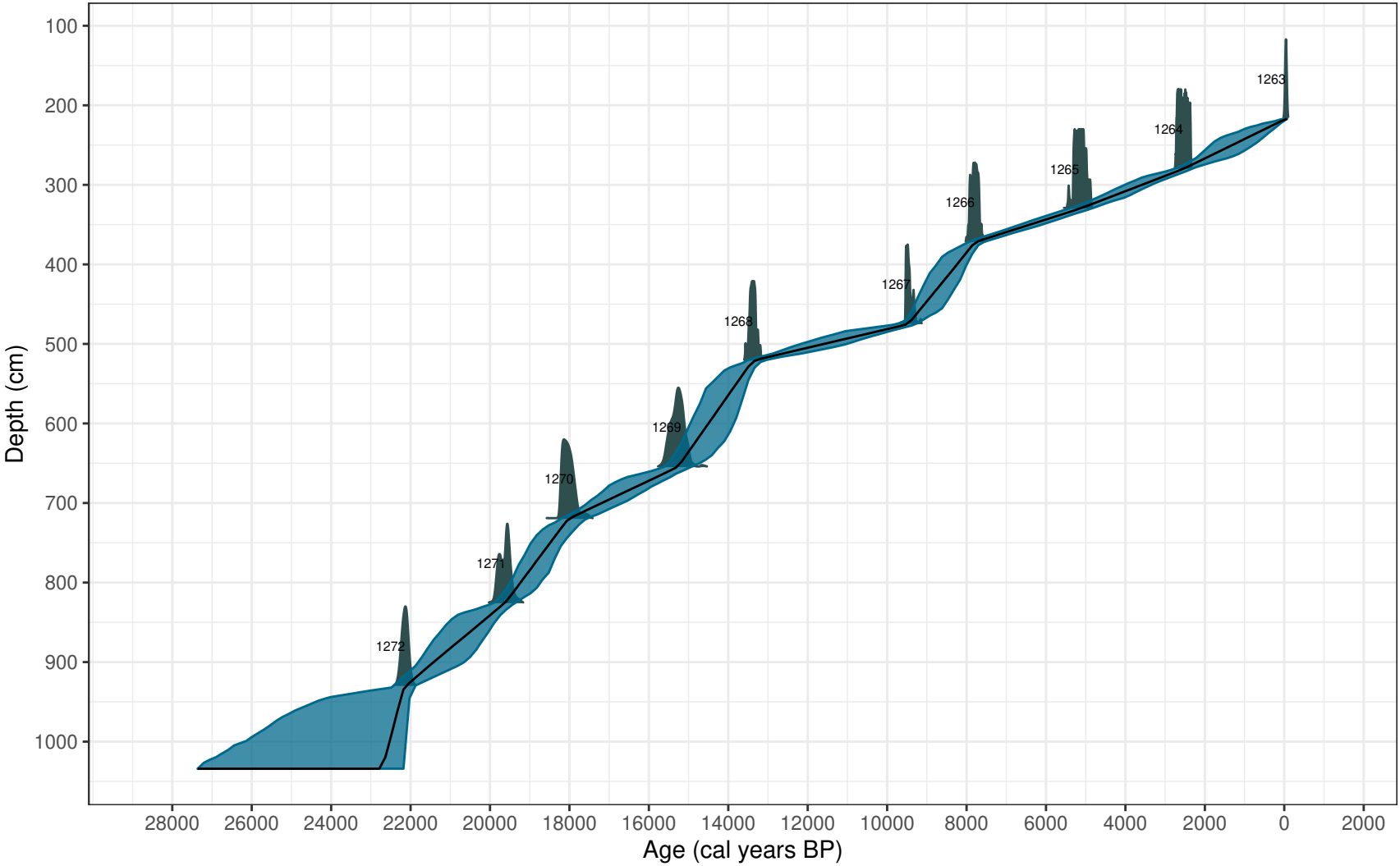

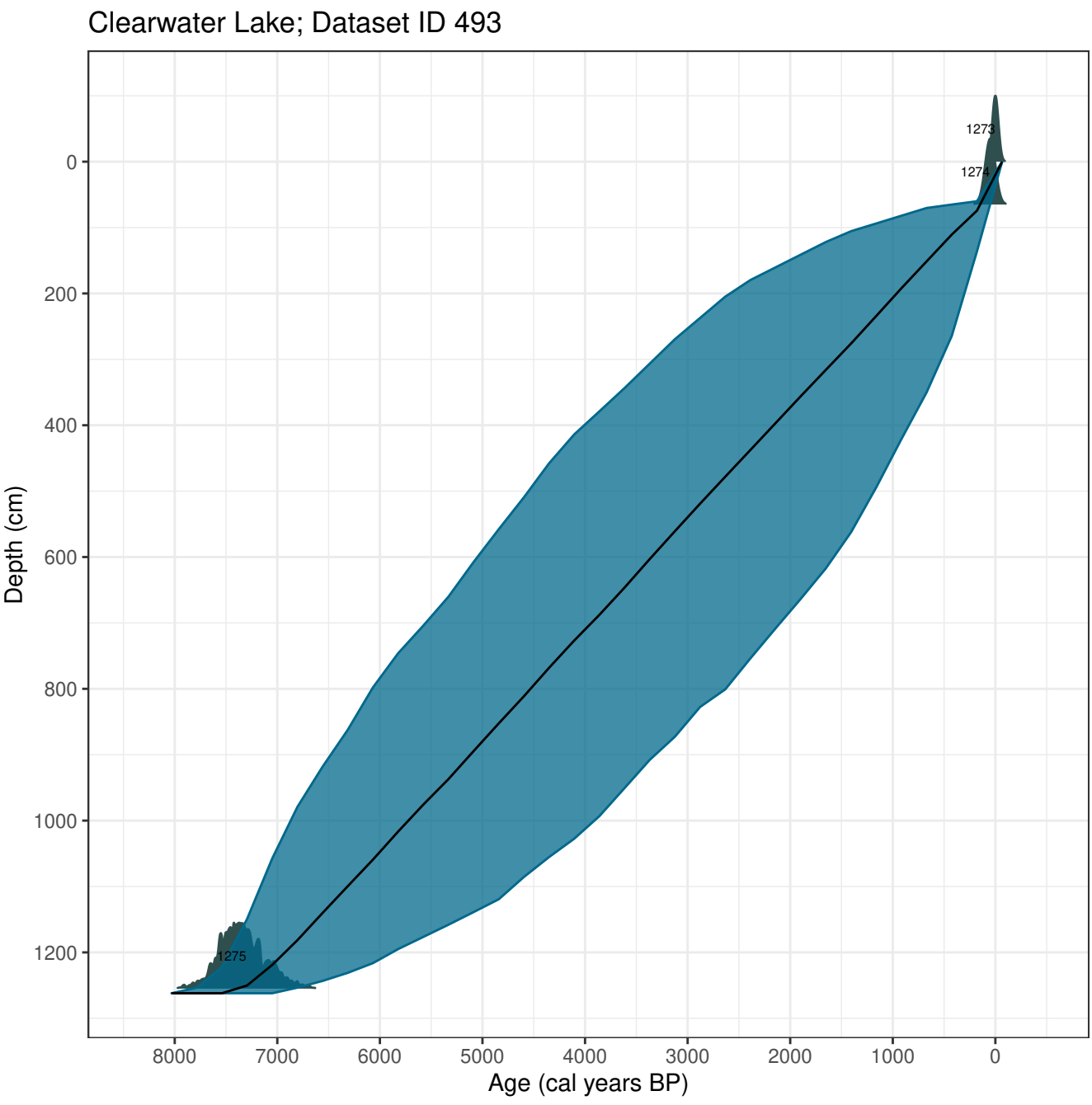
Clearwater Lake; Dataset ID 493
1273
1274
1275
0
200
400
600
800
1000
1200
Depth (cm)
8000
7000
6000
5000
4000
3000
2000
1000
0
Age (cal years BP)

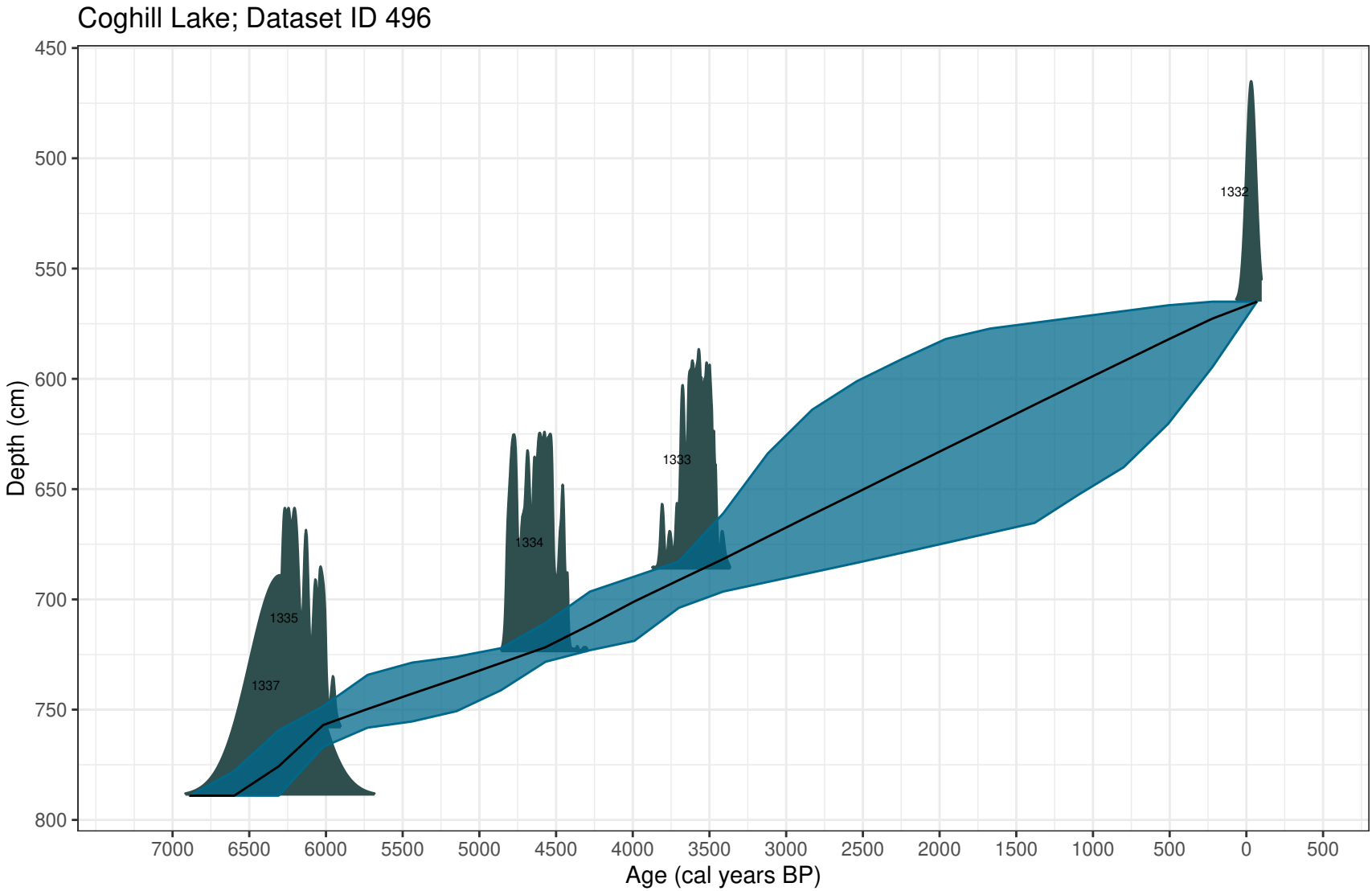
Coghill Lake; Dataset ID 496
Depth (cm)
450
500
550
600
650
700
750
800
Age (cal years BP)
7000
6500
6000
5500
5000
4500
4000
3500
3000
2500
2000
1500
1000
500
0
500
1332
1333
1334
1335
1337

Colo Marsh; Dataset ID 497

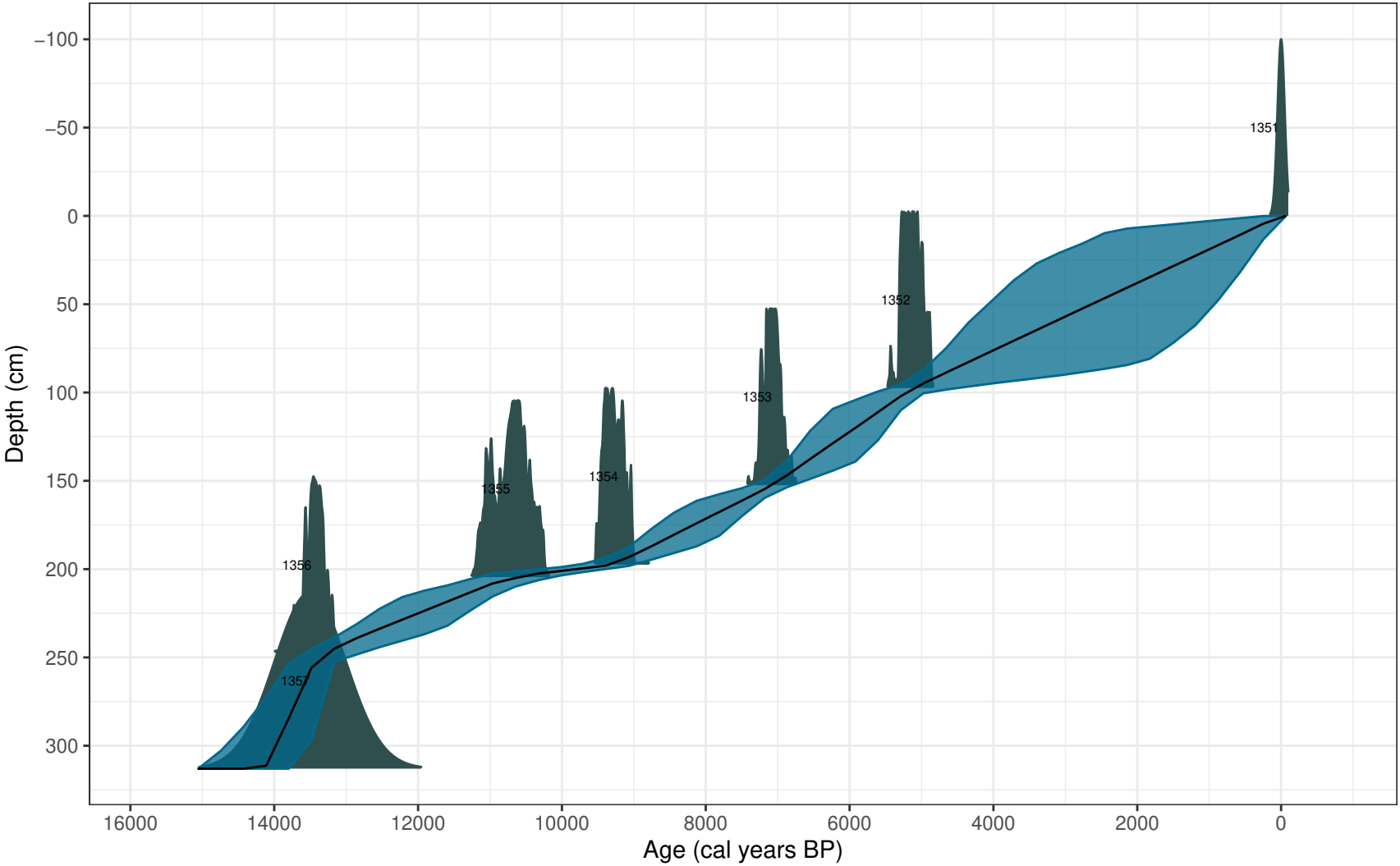

Columbine Ranch Fen; Dataset ID 498

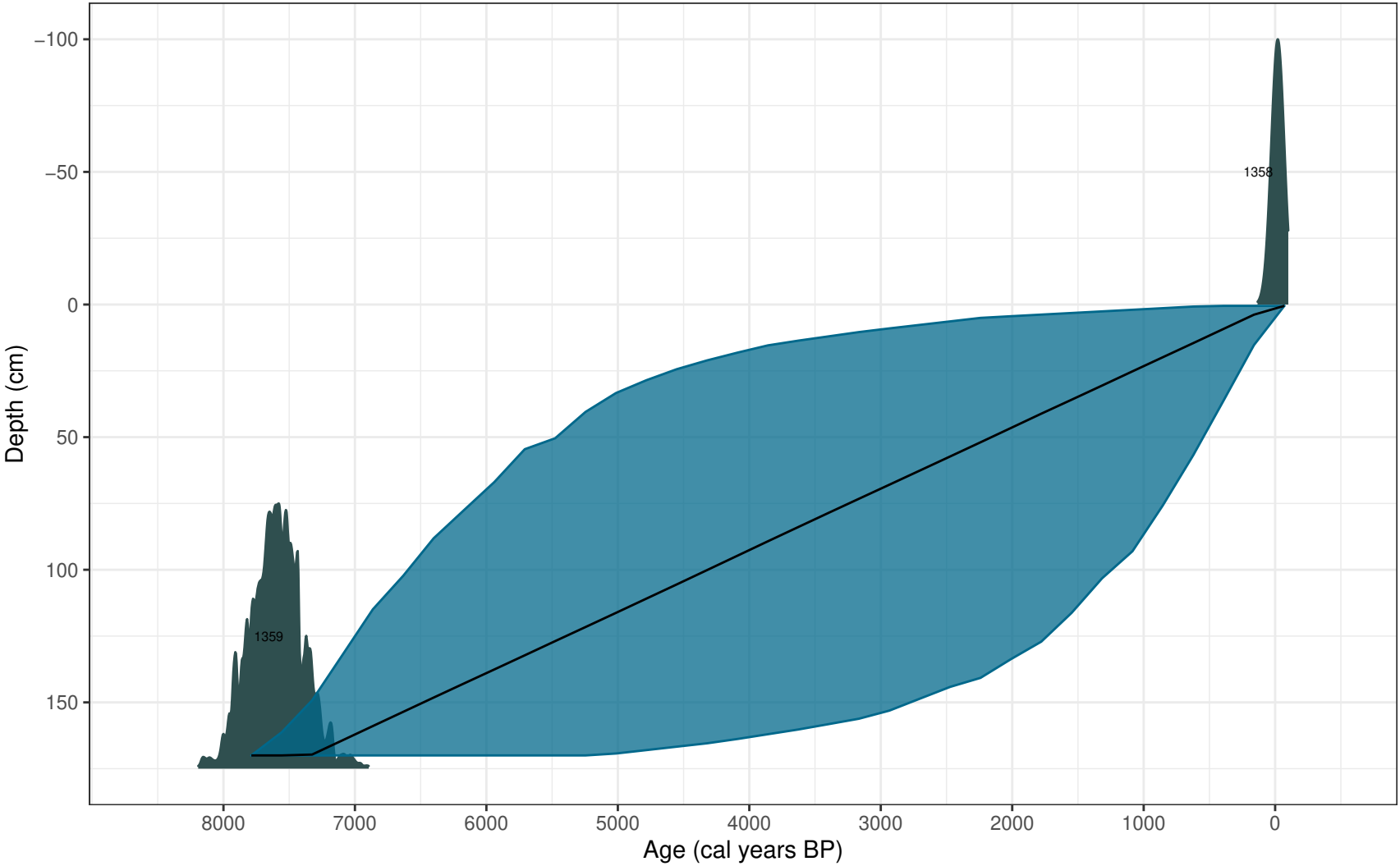

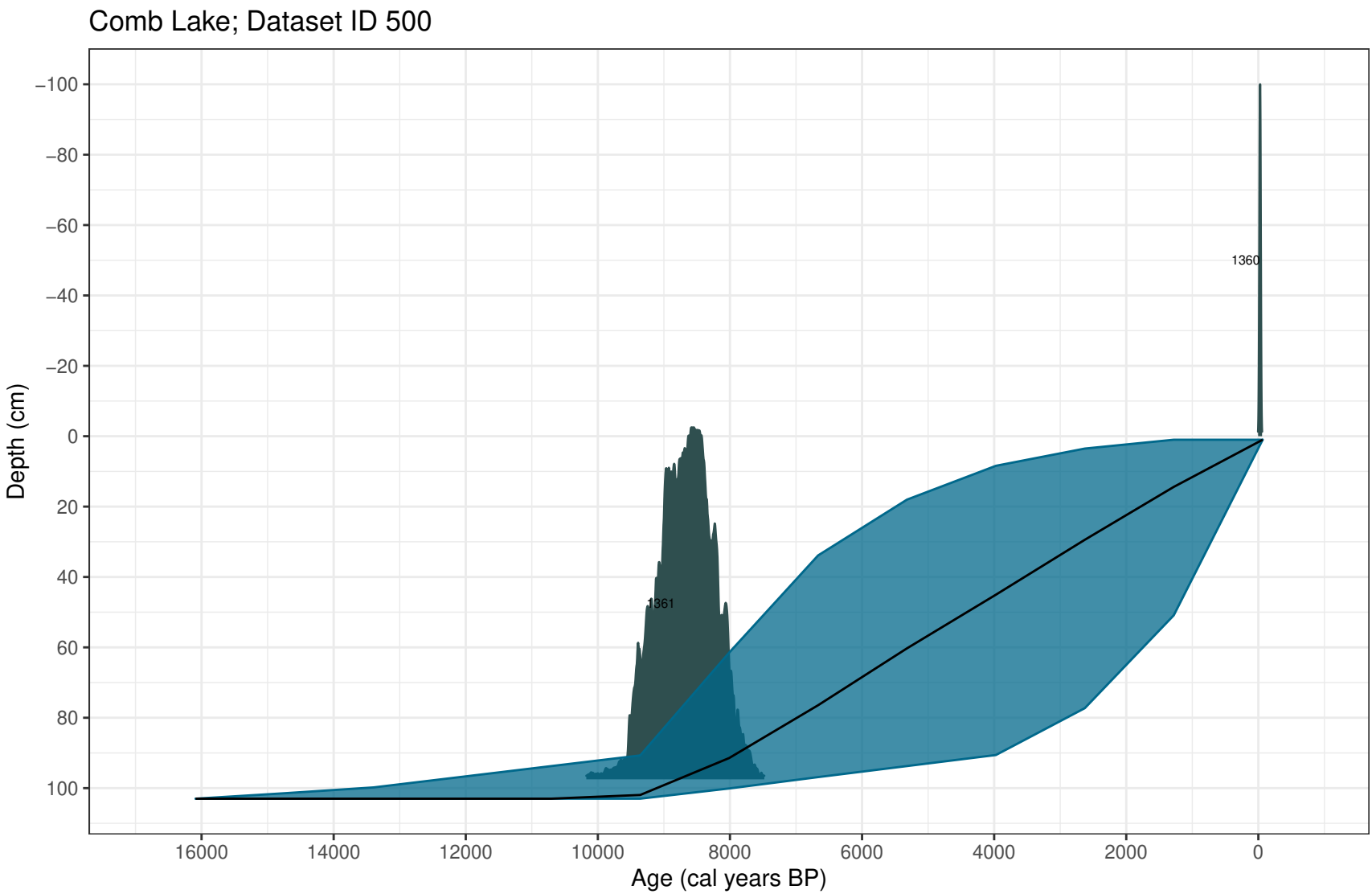
Comb Lake; Dataset ID 500
Depth (cm)
−100
−80
−60
−40
−20
0
20
40
60
80
100
1360
1361
16000
14000
12000
10000
8000
6000
4000
2000
0
Age (cal years BP)

Compass Pond; Dataset ID 501

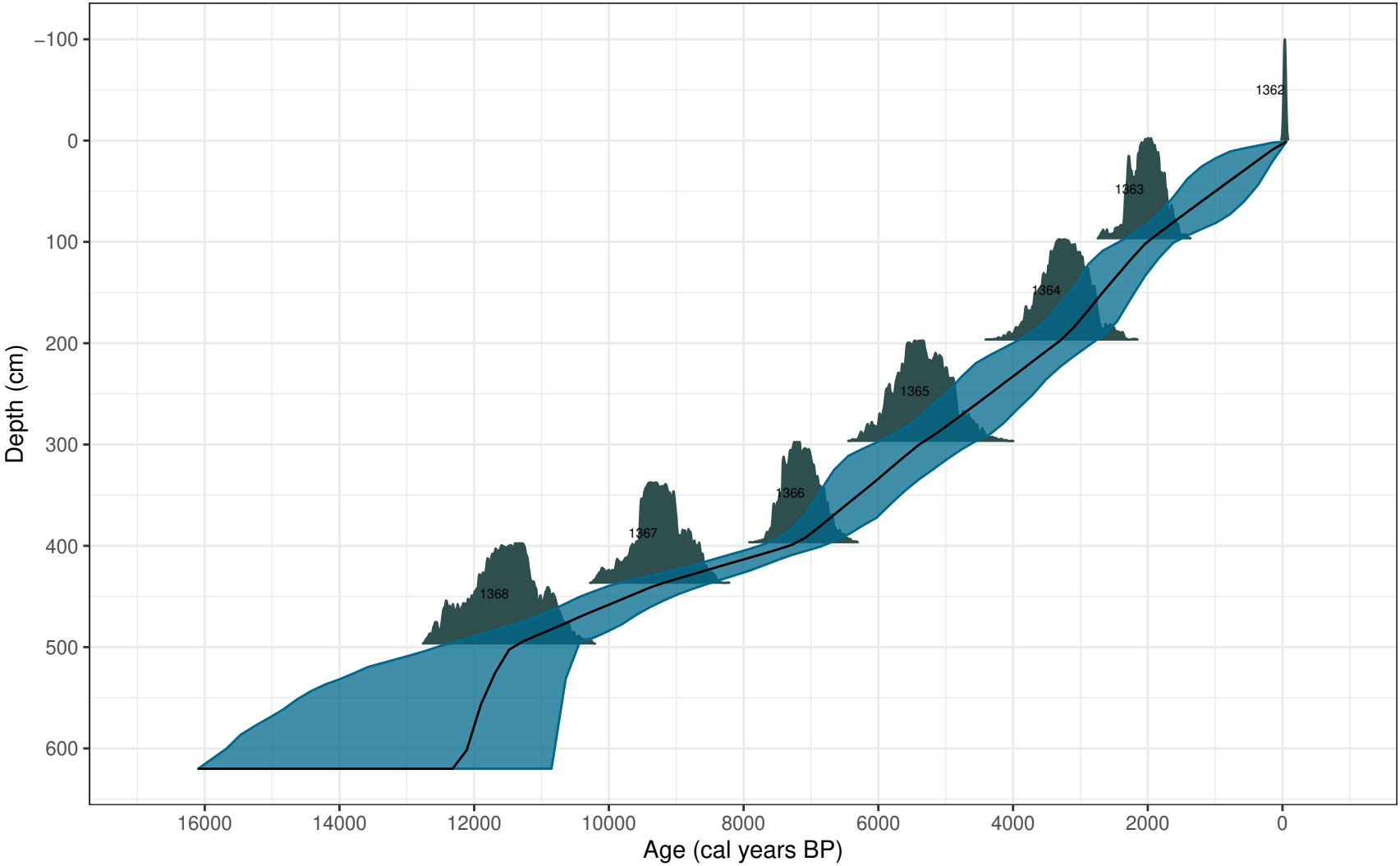

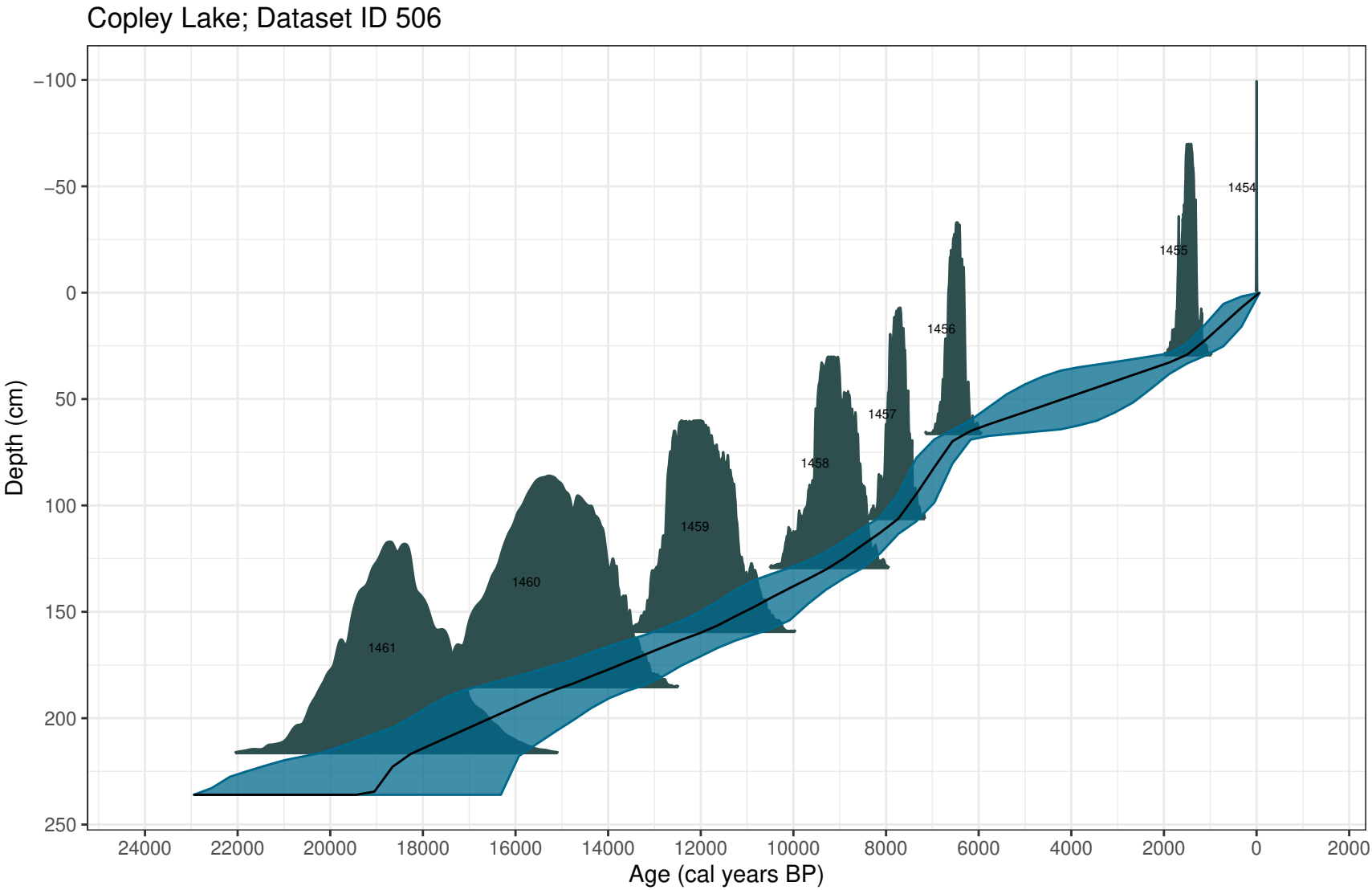
Copley Lake; Dataset ID 506
Depth (cm)
−100
−50
0
50
100
150
200
250
Age (cal years BP)
24000
22000
20000
18000
16000
14000
12000
10000
8000
6000
4000
2000
0
2000
1454
1455
1456
1457
1458
1459
1460
1461

Lac Côté; Dataset ID 508

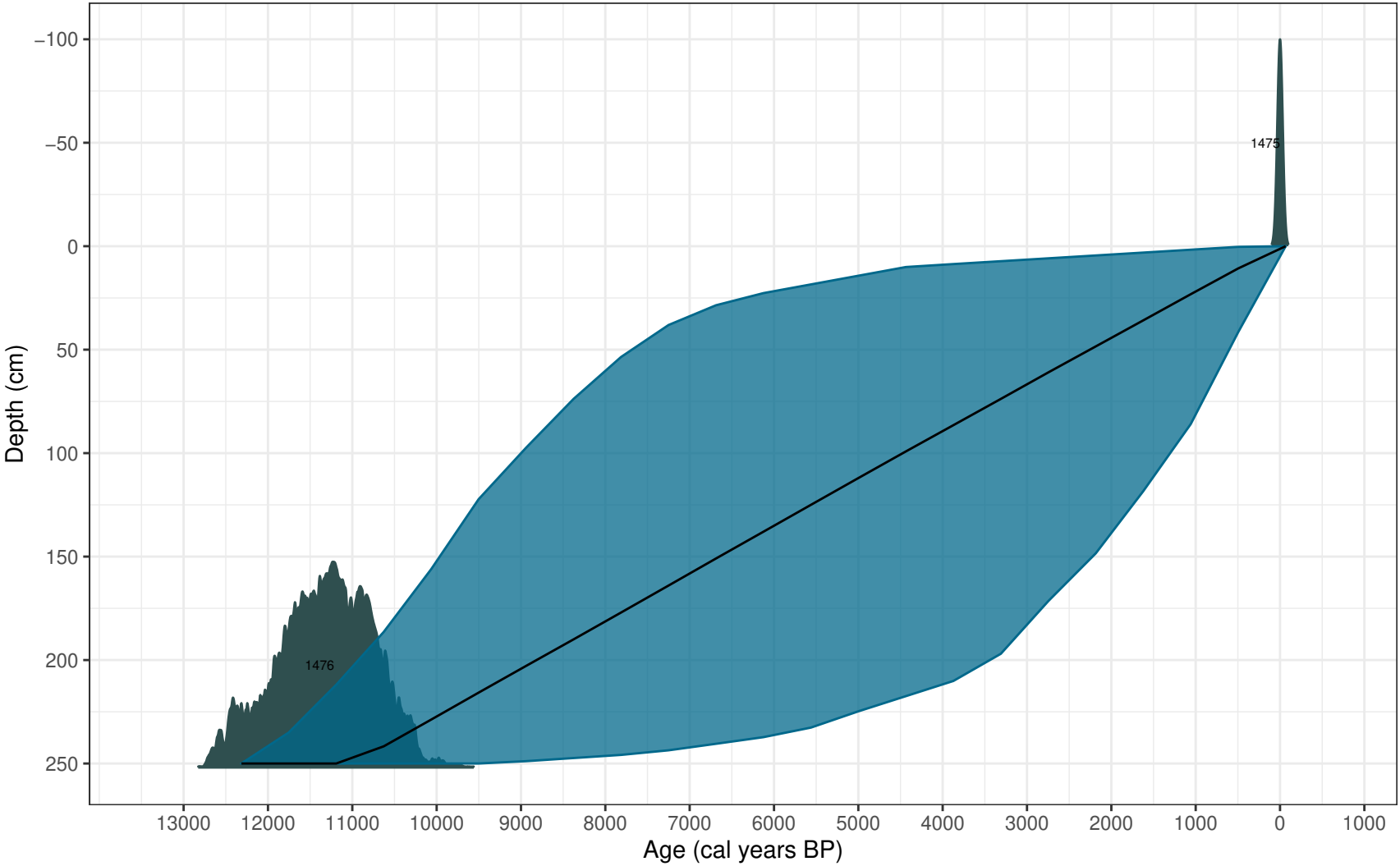

Tourbière de Lanoraie COTEAU JAUNE; Dataset ID 510

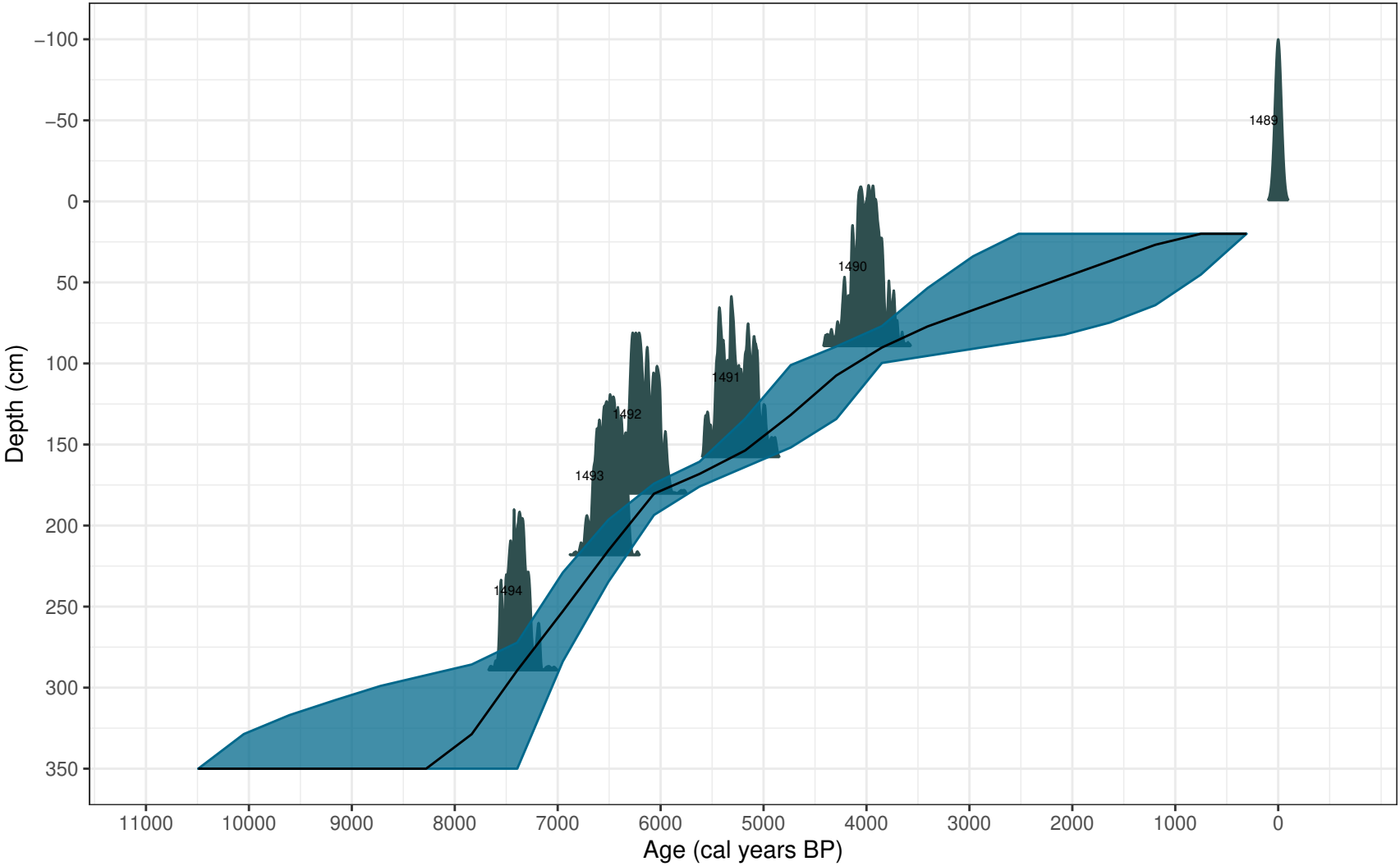

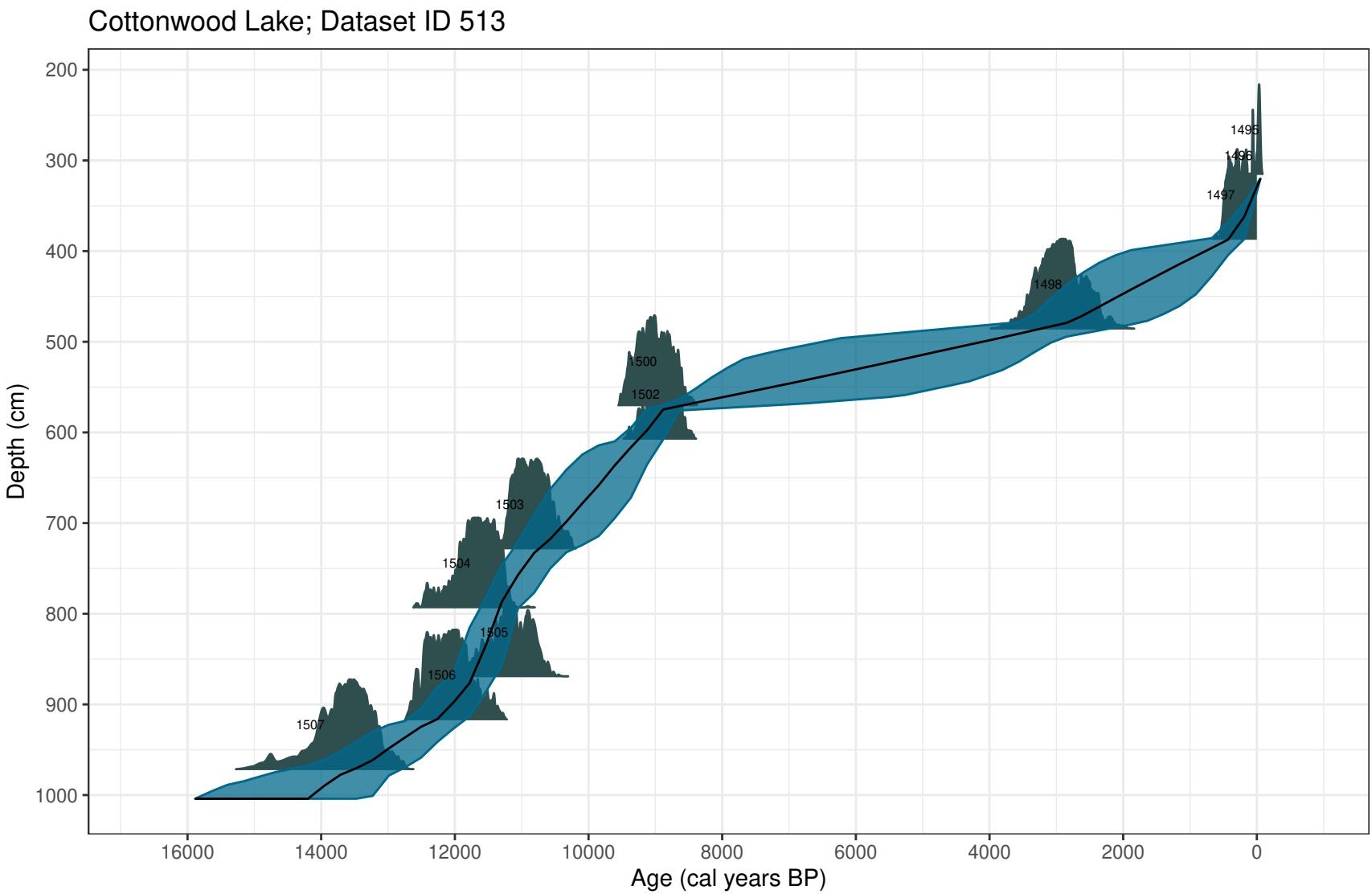
Cottonwood Lake; Dataset ID 513
Depth (cm)
200
300
400
500
600
700
800
900
1000
Age (cal years BP)
16000
14000
12000
10000
8000
6000
4000
2000
0
1495
1496
1497
1498
1500
1502
1503
1504
1505
1506
1507

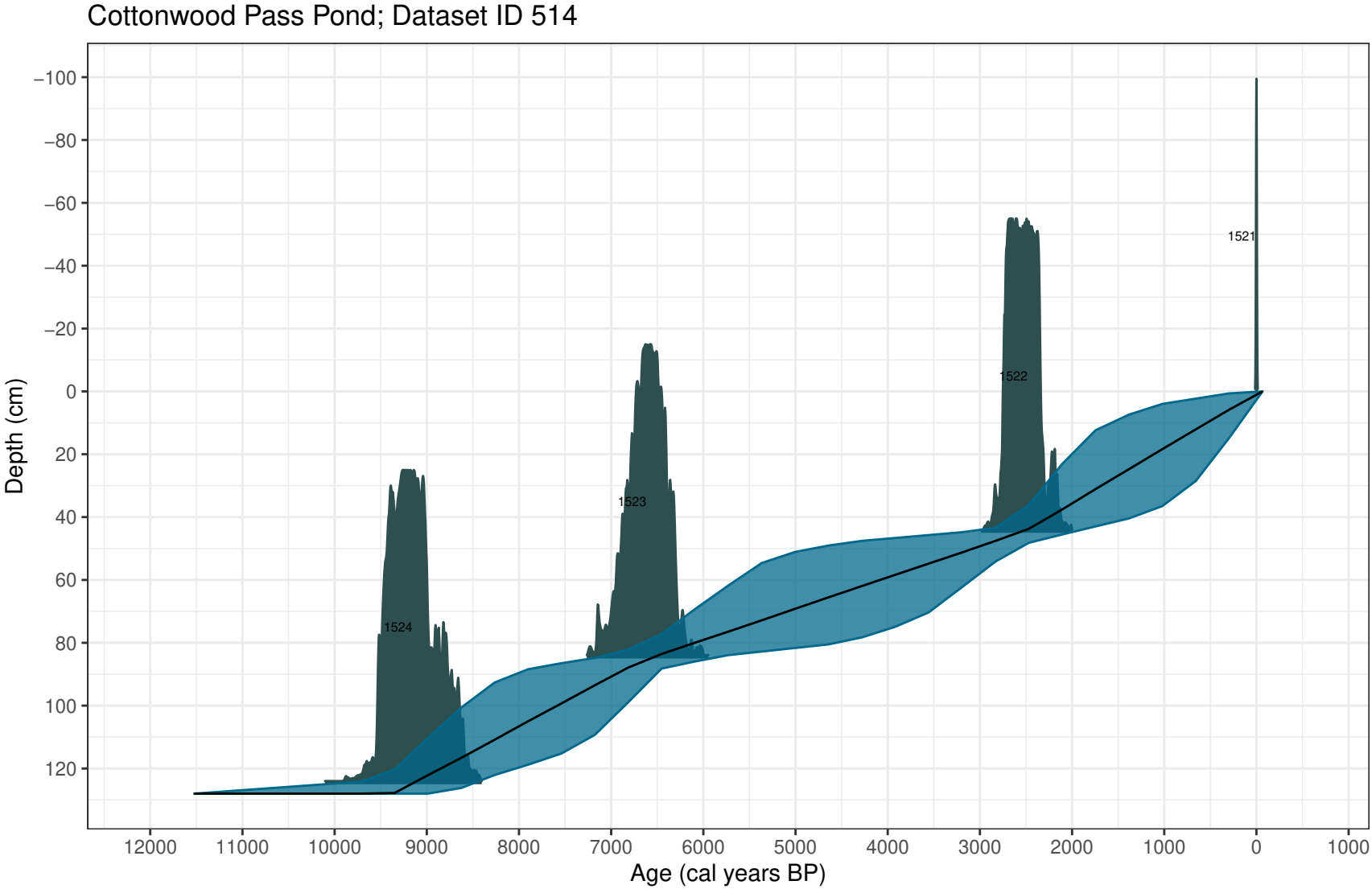
Cottonwood Pass Pond; Dataset ID 514
Depth (cm)
−100
−80
−60
−40
−20
0
20
40
60
80
100
120
1521
1522
1523
1524
12000
11000
10000
9000
8000
7000
6000
5000
4000
3000
2000
1000
0
1000
Age (cal years BP)

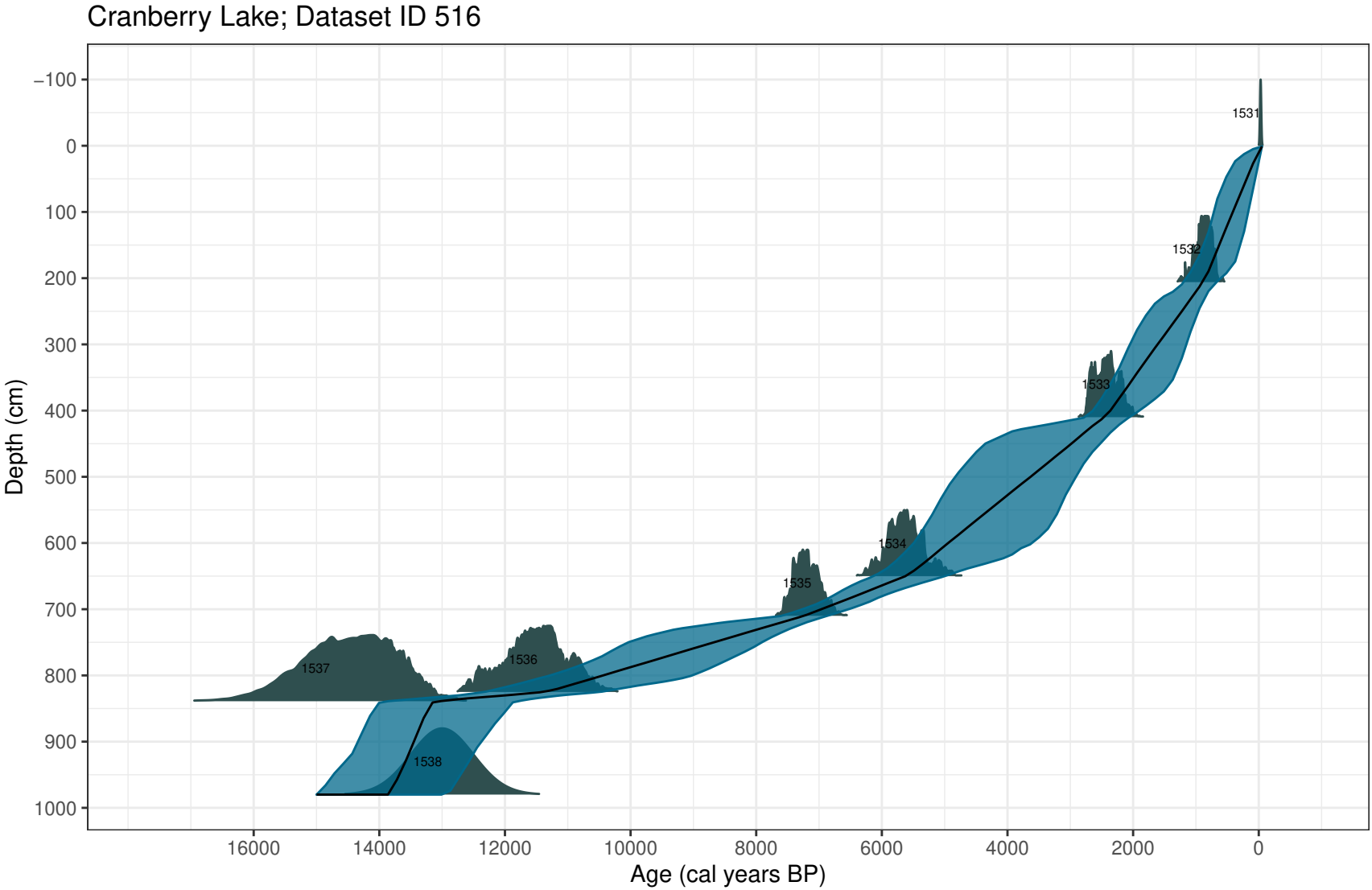
Cranberry Lake; Dataset ID 516
Depth (cm)
−100
0
100
200
300
400
500
600
700
800
900
1000
Age (cal years BP)
16000
14000
12000
10000
8000
6000
4000
2000
0
1531
1532
1533
1534
1535
1536
1537
1538

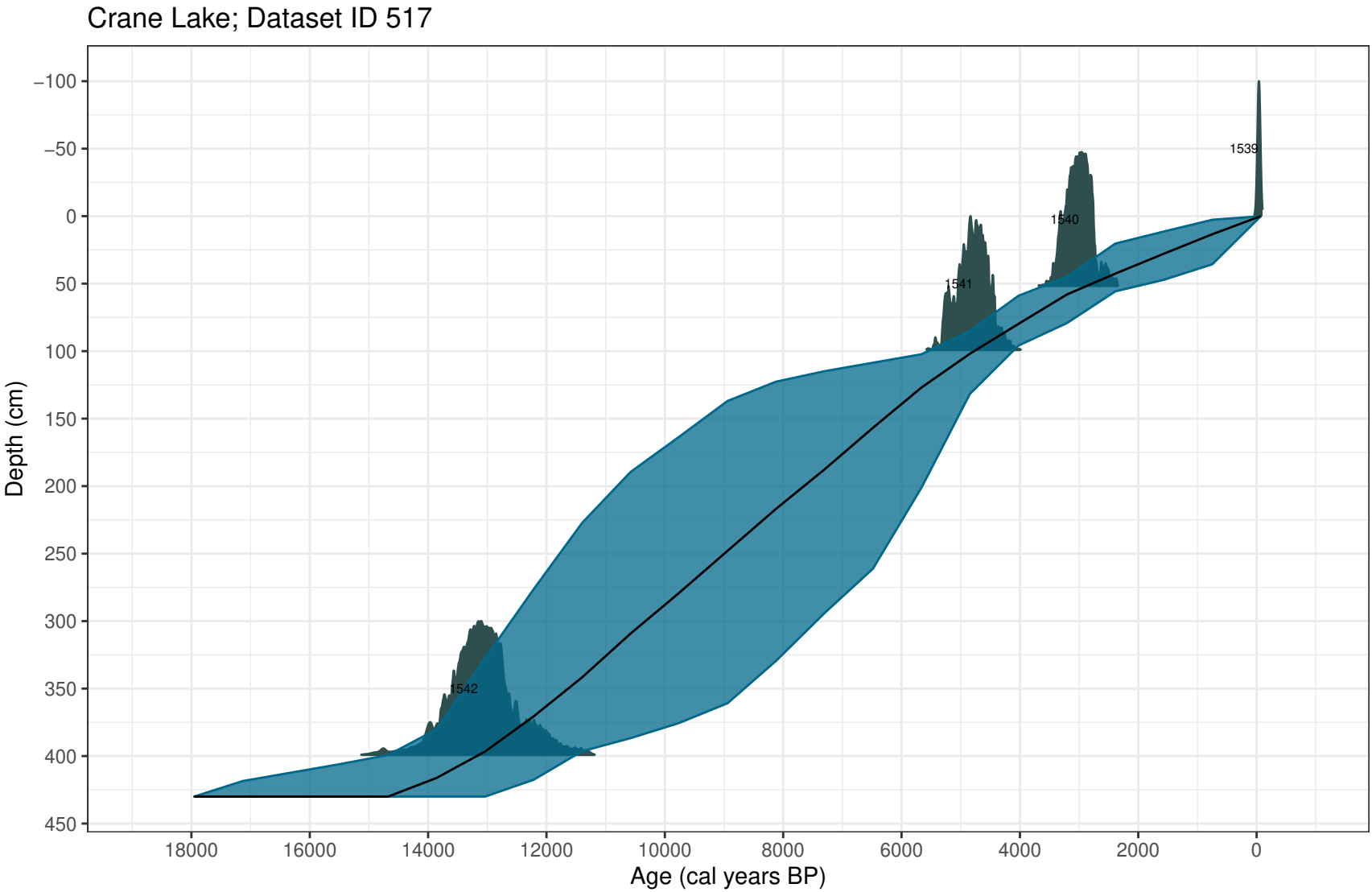
Crane Lake; Dataset ID 517
Depth (cm)
−100
−50
0
50
100
150
200
250
300
350
400
450
Age (cal years BP)
18000
16000
14000
12000
10000
8000
6000
4000
2000
0
1539
1540
1541
1542

Cranberry Glades; Dataset ID 518

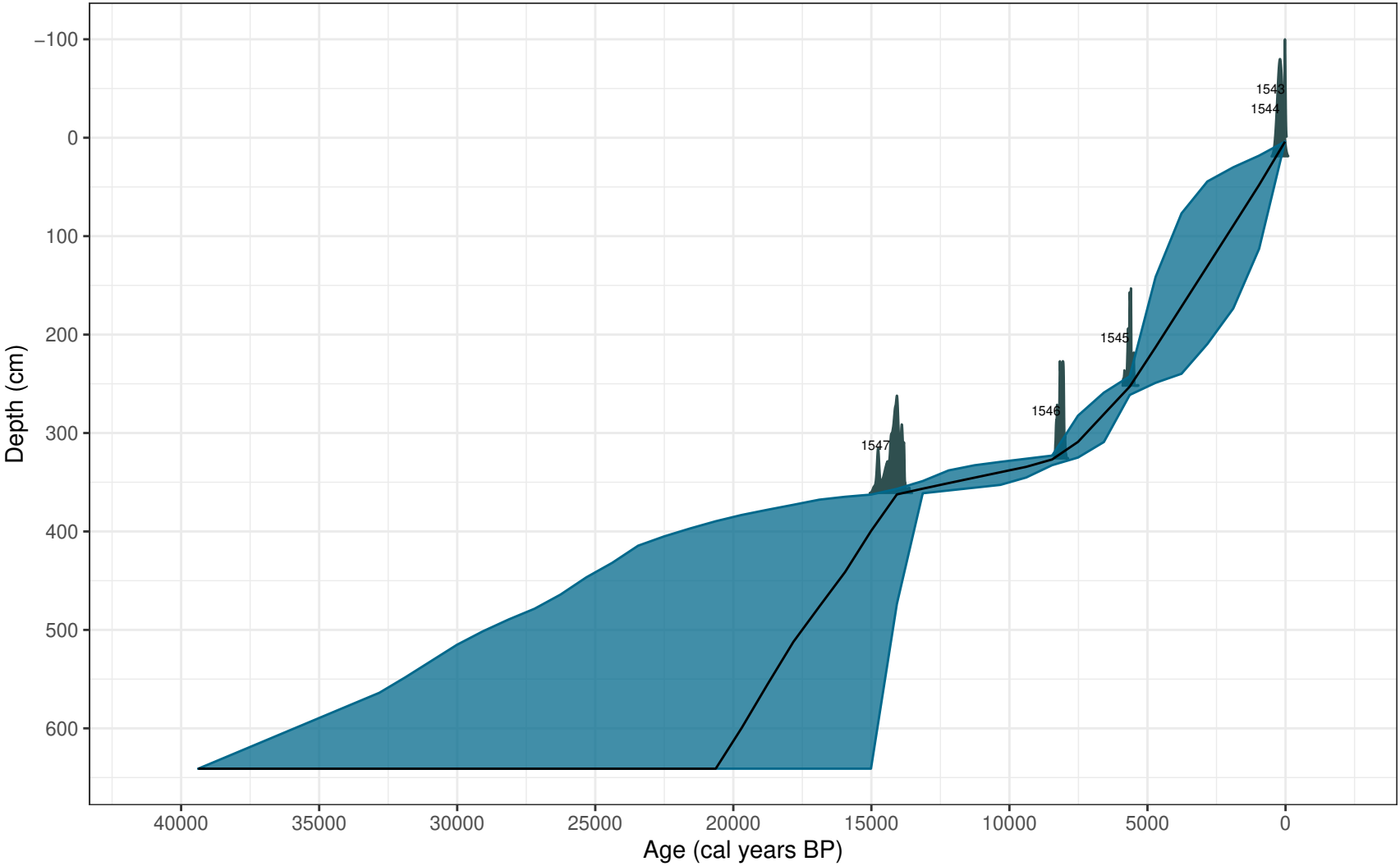

Crates Lake; Dataset ID 519

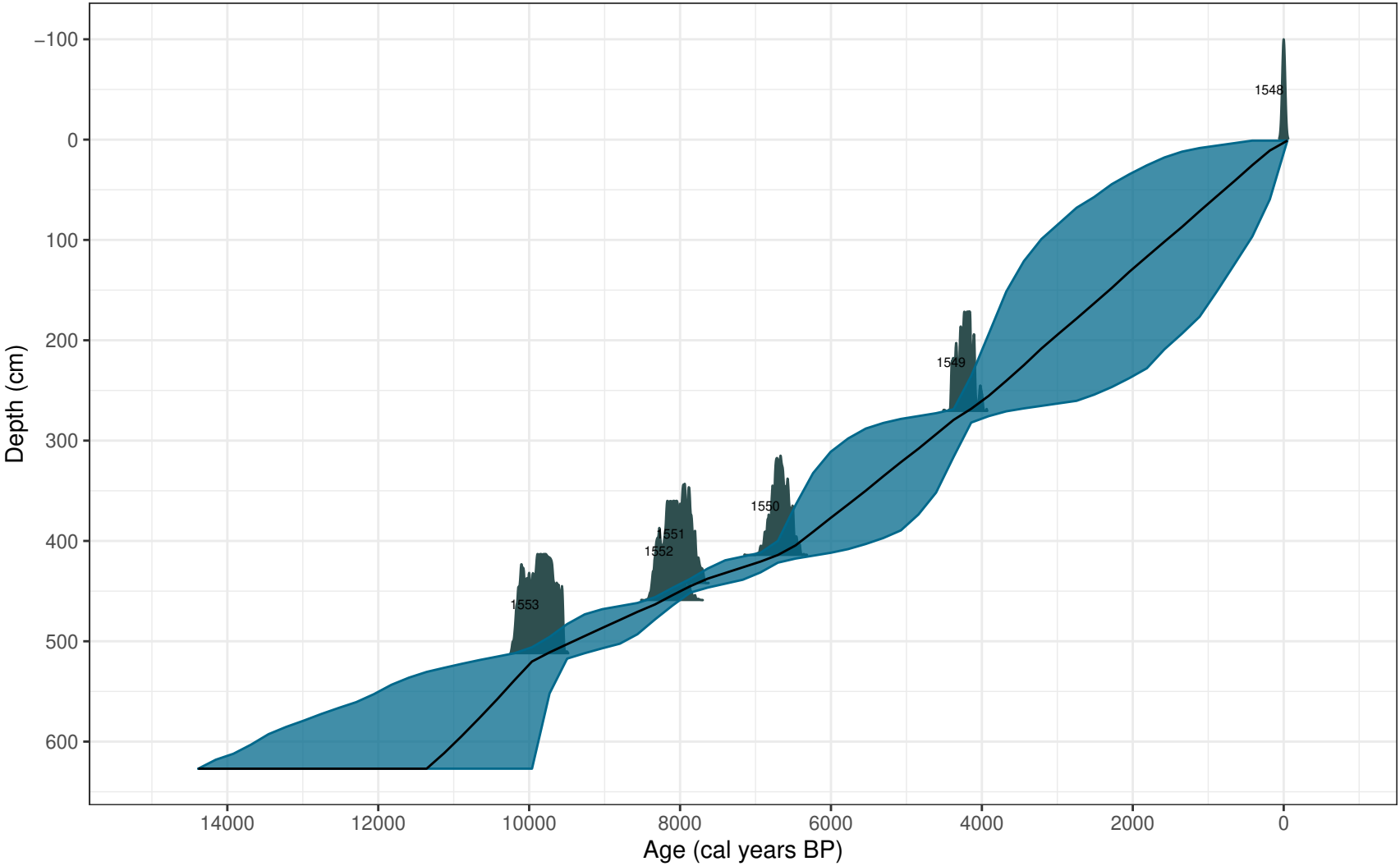

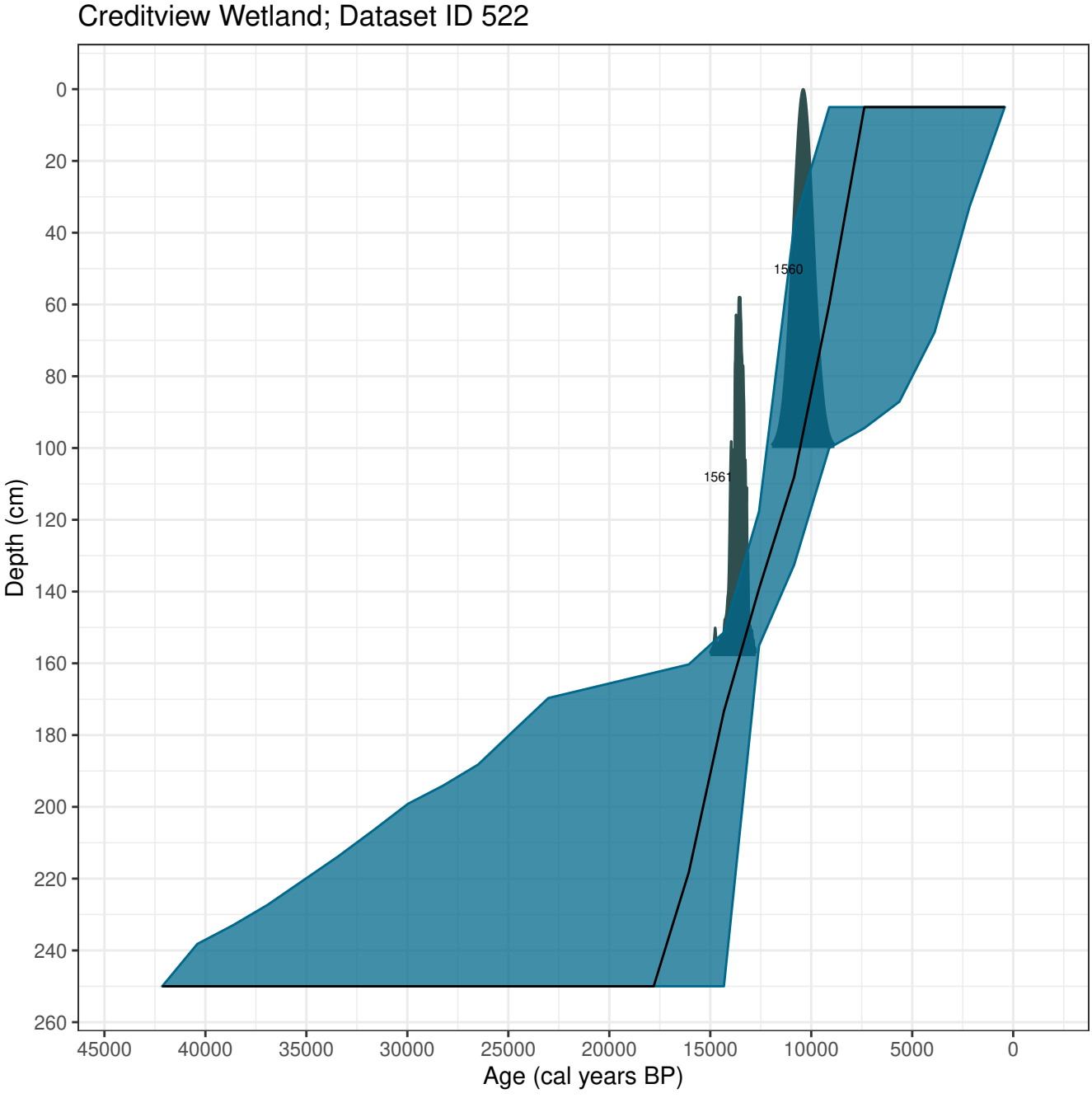
Creditview Wetland; Dataset ID 522
Depth (cm)
0
20
40
60
80
100
120
140
160
180
200
220
240
260
1560
1561
45000
40000
35000
30000
25000
20000
15000
10000
5000
0
Age (cal years BP)

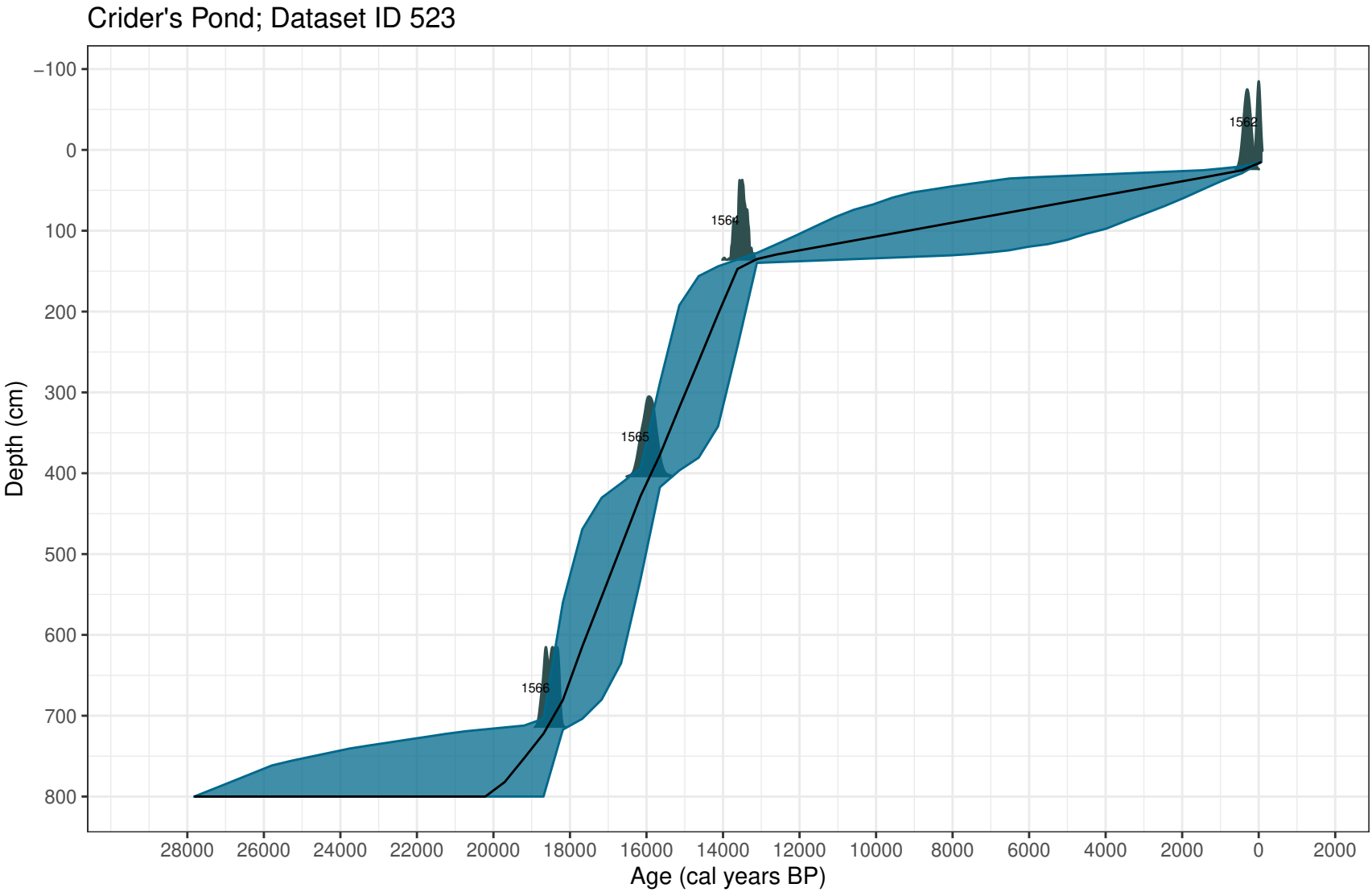
Crider's Pond; Dataset ID 523
Depth (cm)
−100
0
100
200
300
400
500
600
700
800
Age (cal years BP)
28000
26000
24000
22000
20000
18000
16000
14000
12000
10000
8000
6000
4000
2000
0
2000
1562
1564
1565
1566

Cristal Lake; Dataset ID 524

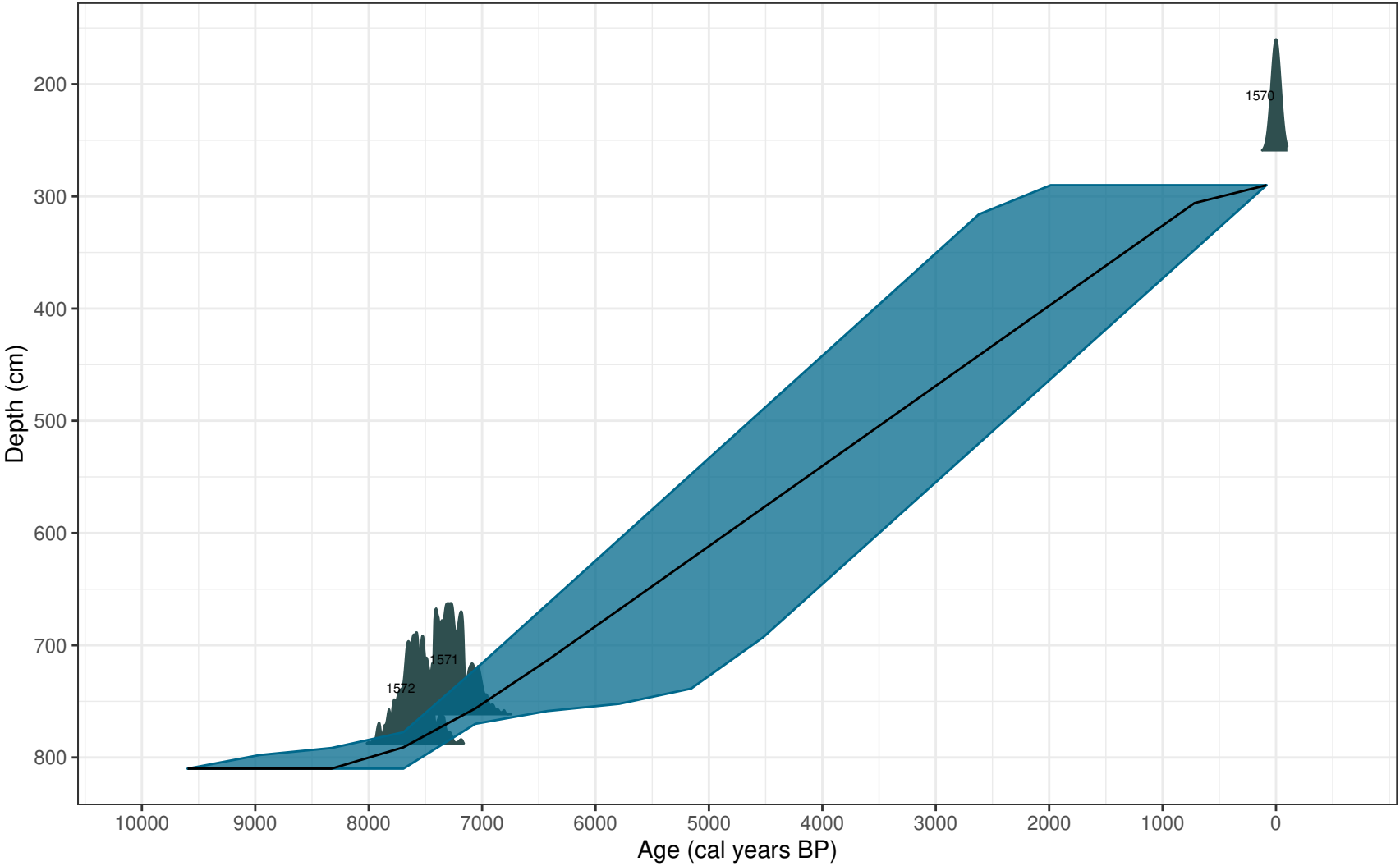

Crowfoot Lake; Dataset ID 525

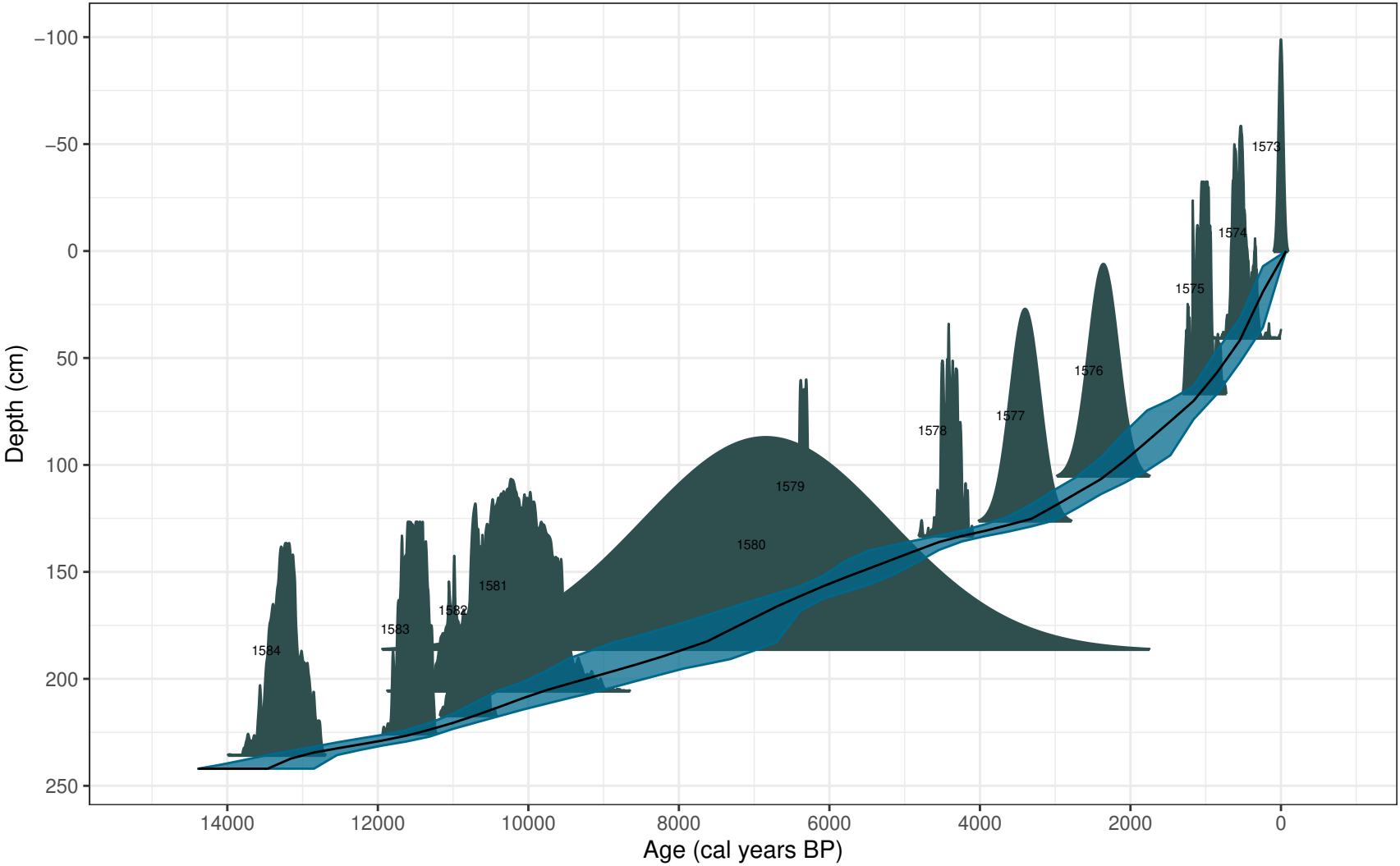

Crowsnest Lake; Dataset ID 527

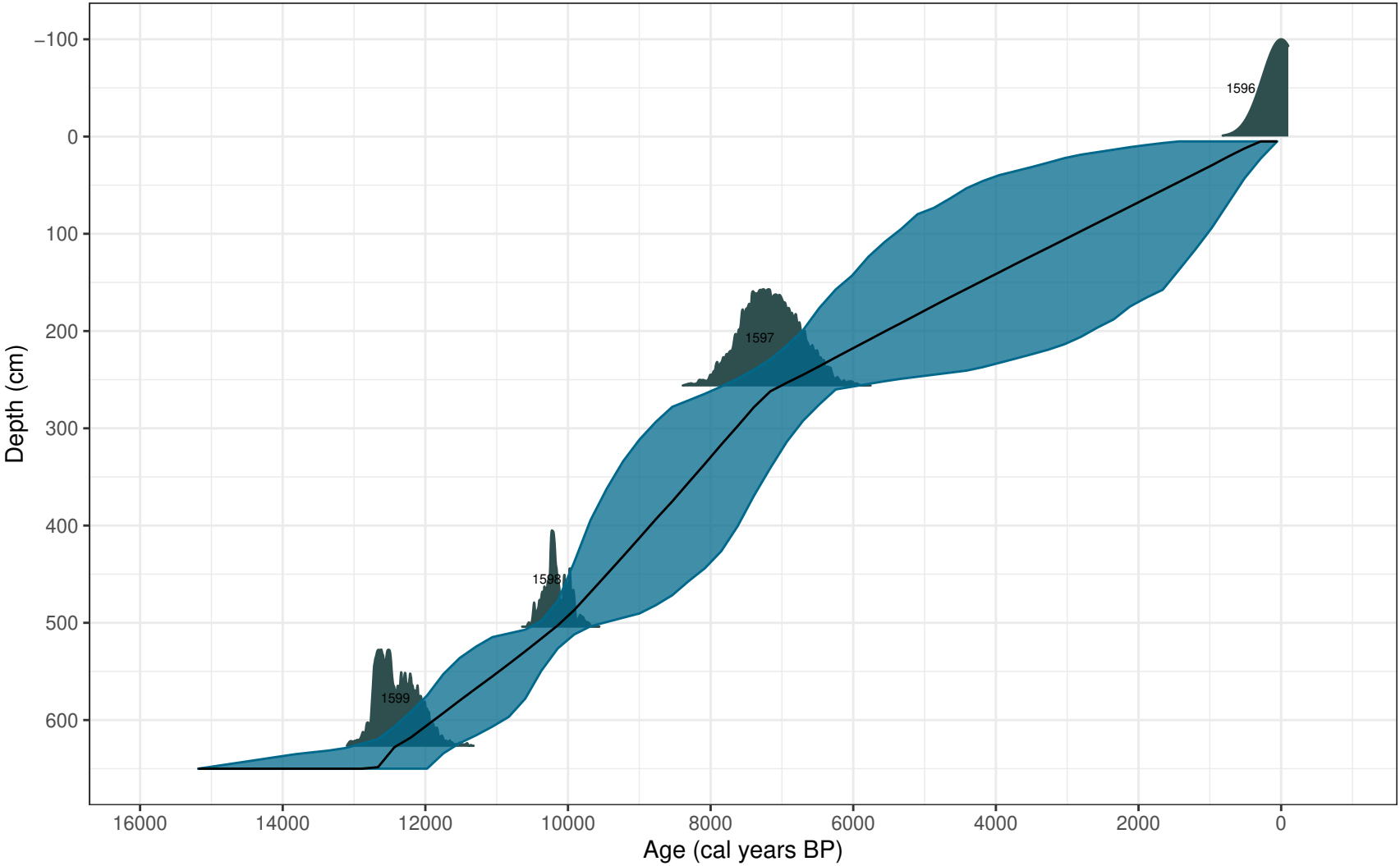

Cub Creek Pond; Dataset ID 533

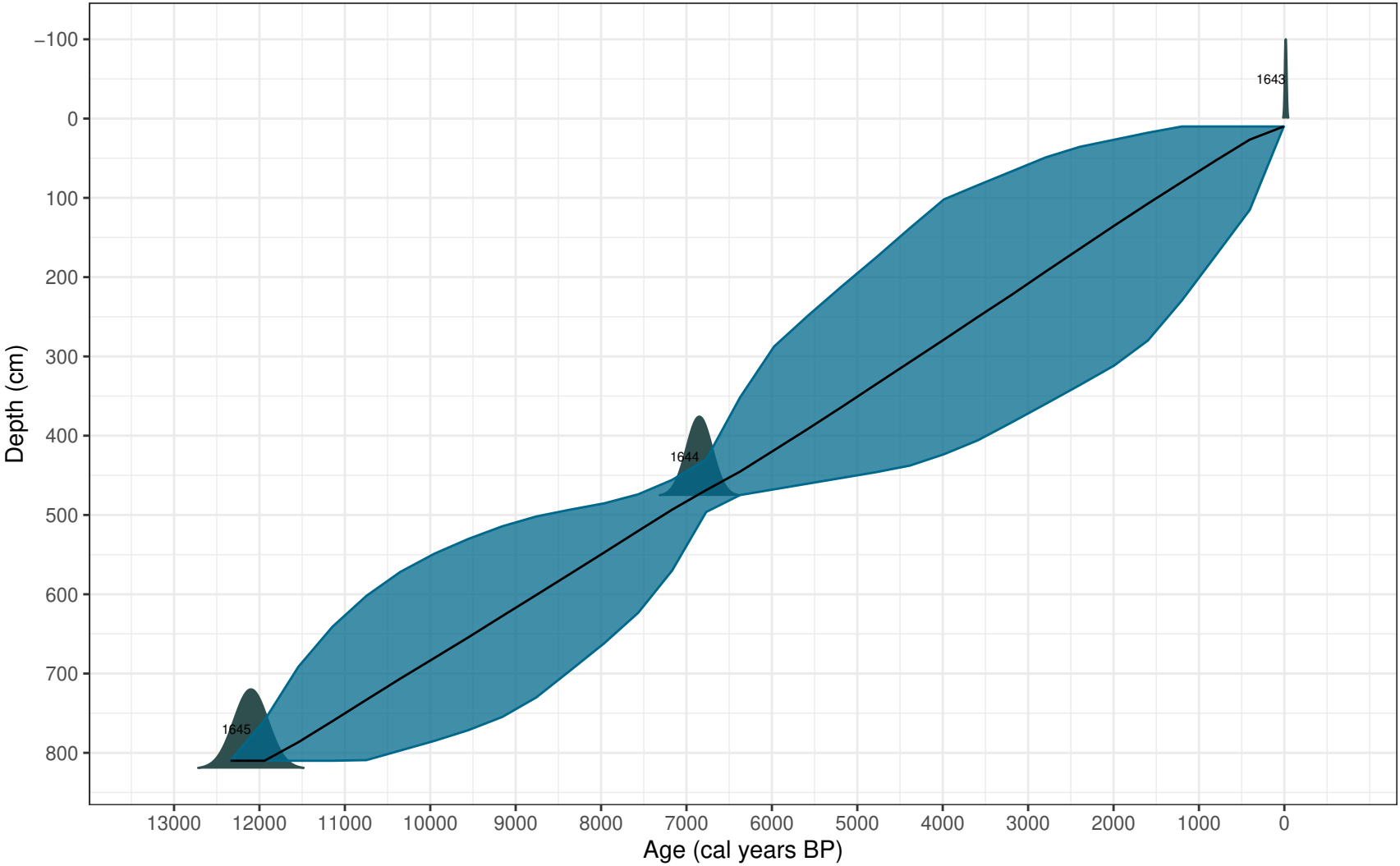

Cub Lake; Dataset ID 534

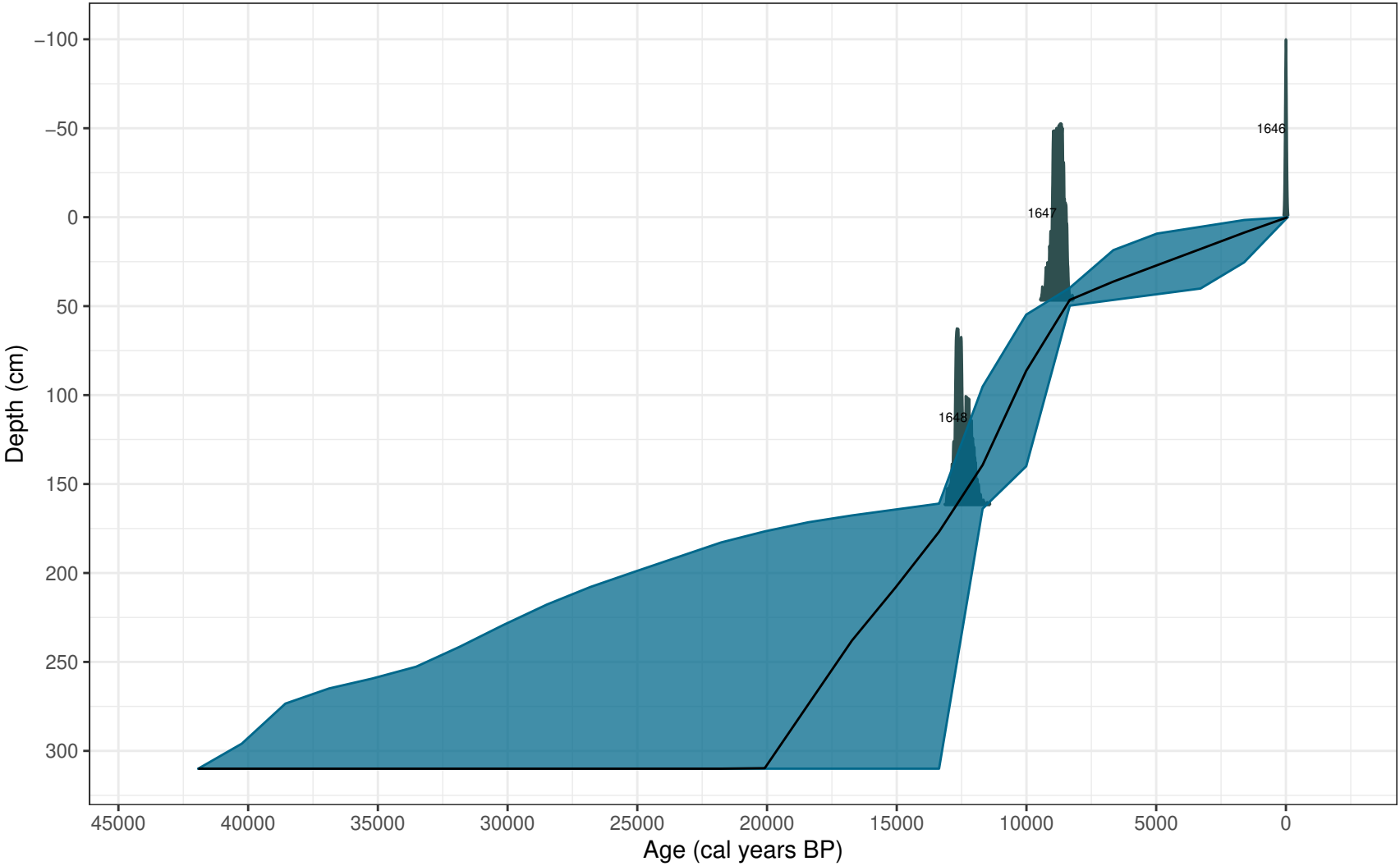

Cummins Pond; Dataset ID 538

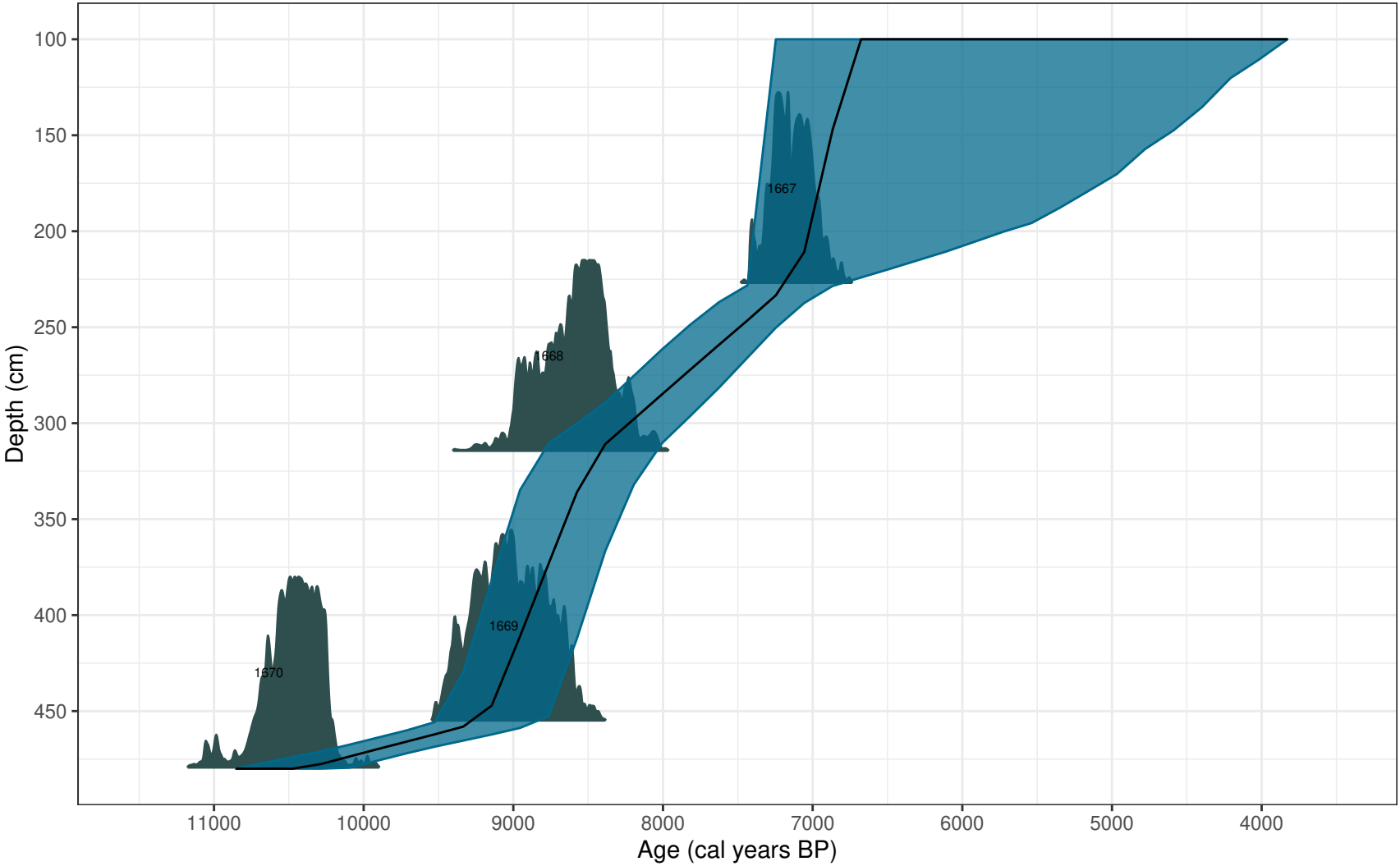

Cupola Pond; Dataset ID 539

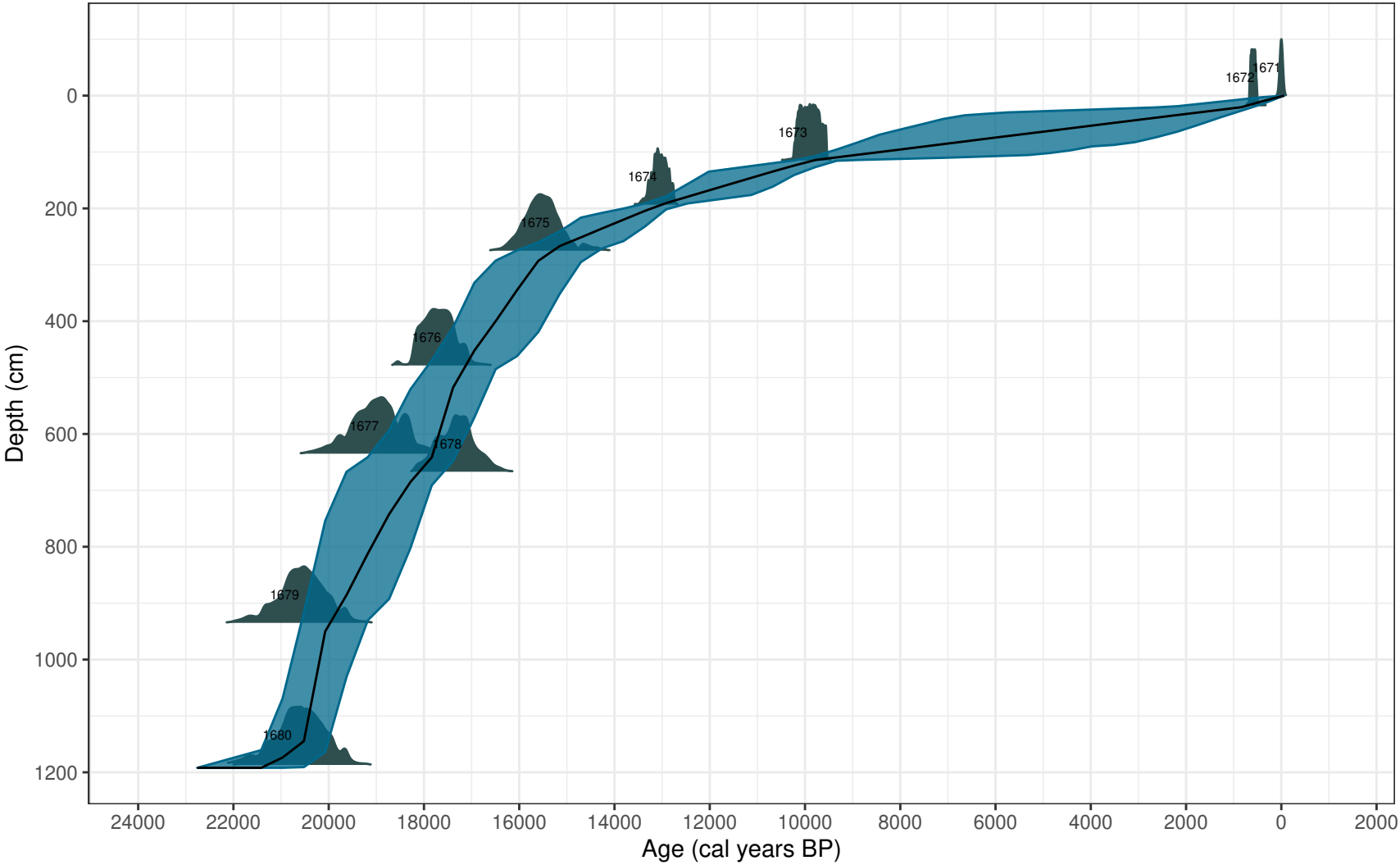

Cygnet Lake Fen; Dataset ID 543

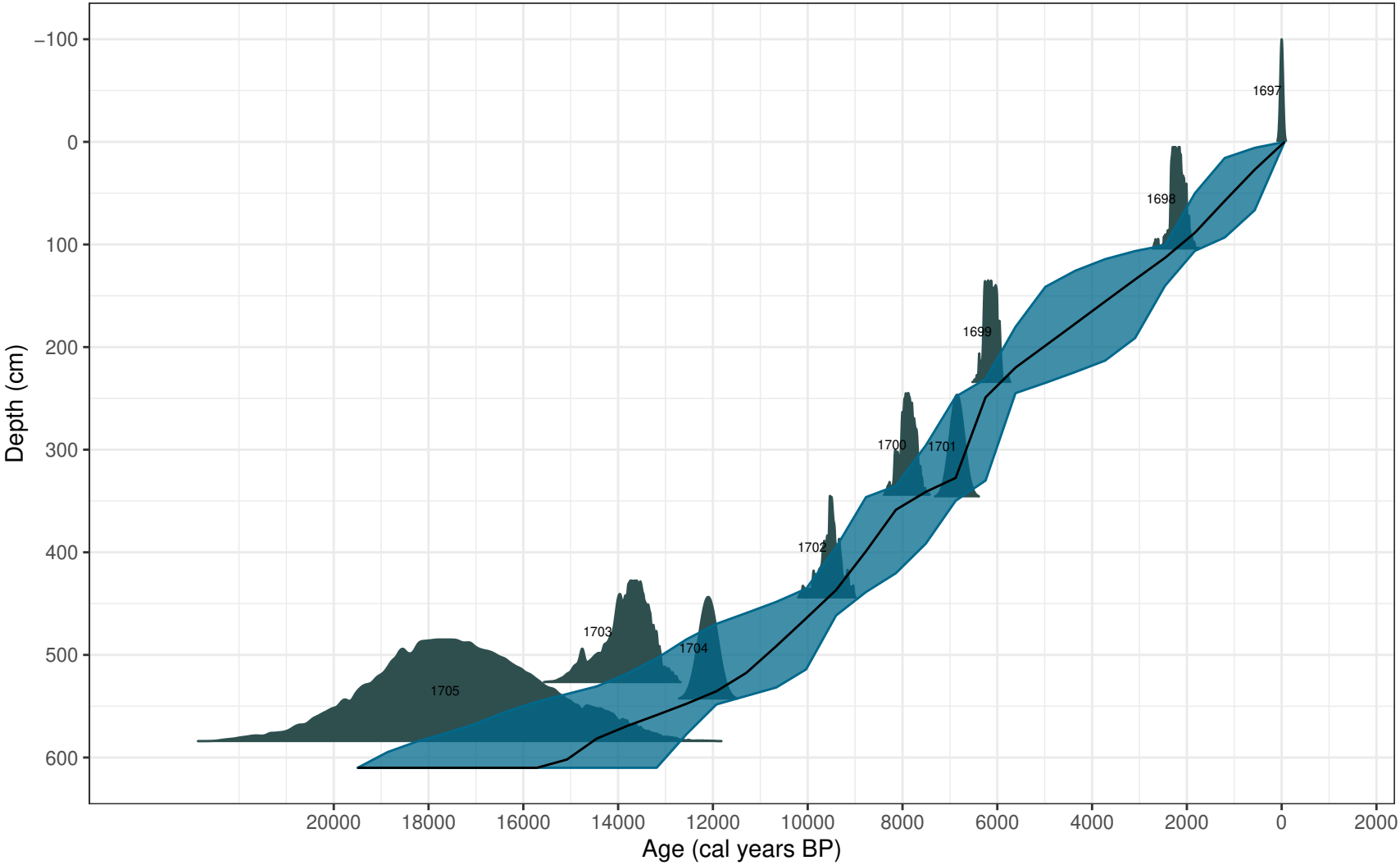

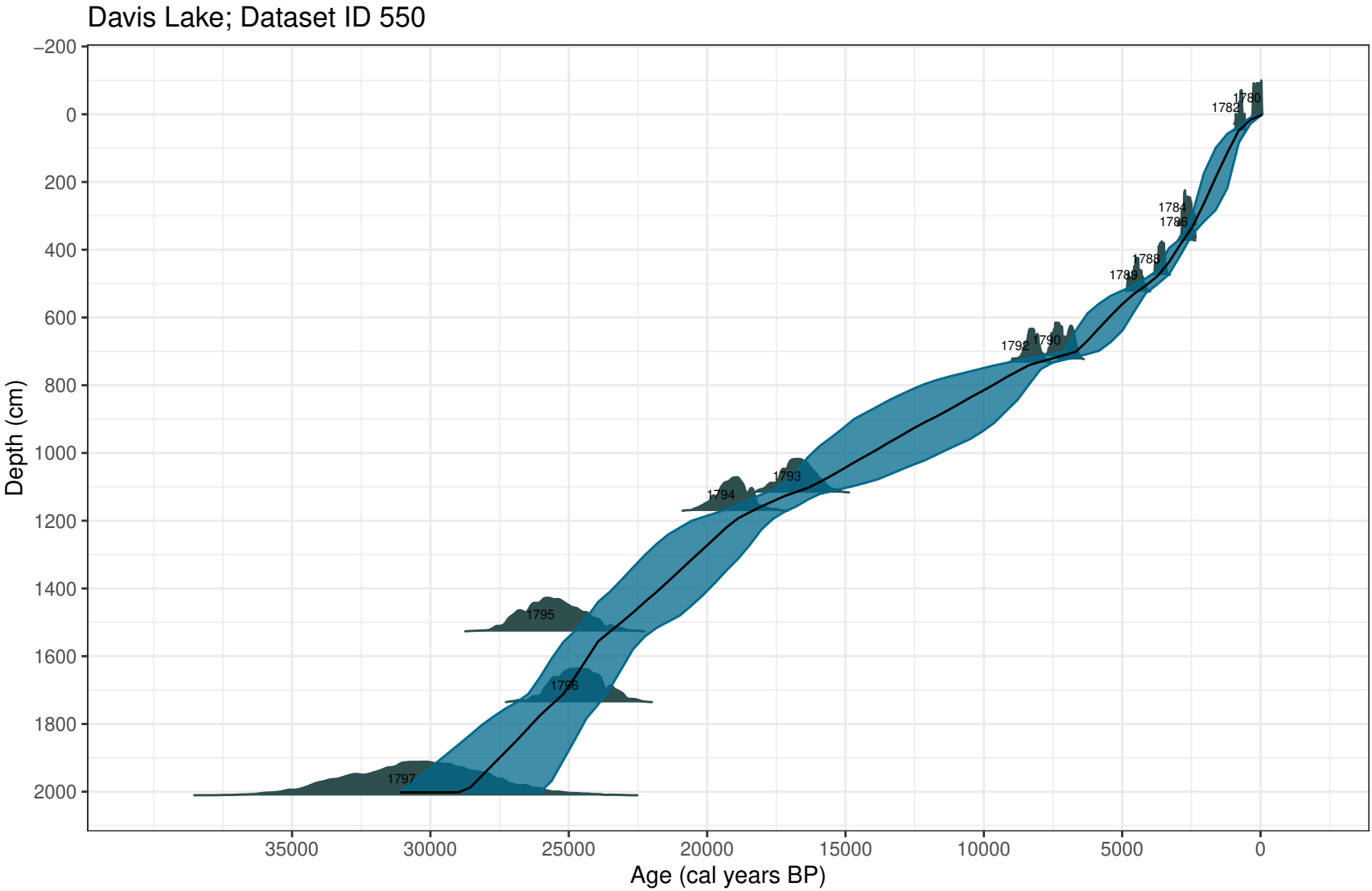
Davis Lake; Dataset ID 550
Depth (cm)
Age (cal years BP)
−200
0
200
400
600
800
1000
1200
1400
1600
1800
2000
35000
30000
25000
20000
15000
10000
5000
0
1780
1782
1784
1786
1788
1789
1790
1792
1793
1794
1795
1796
1797

Toadlena Lake [Dead Man Lake]; Dataset ID 671

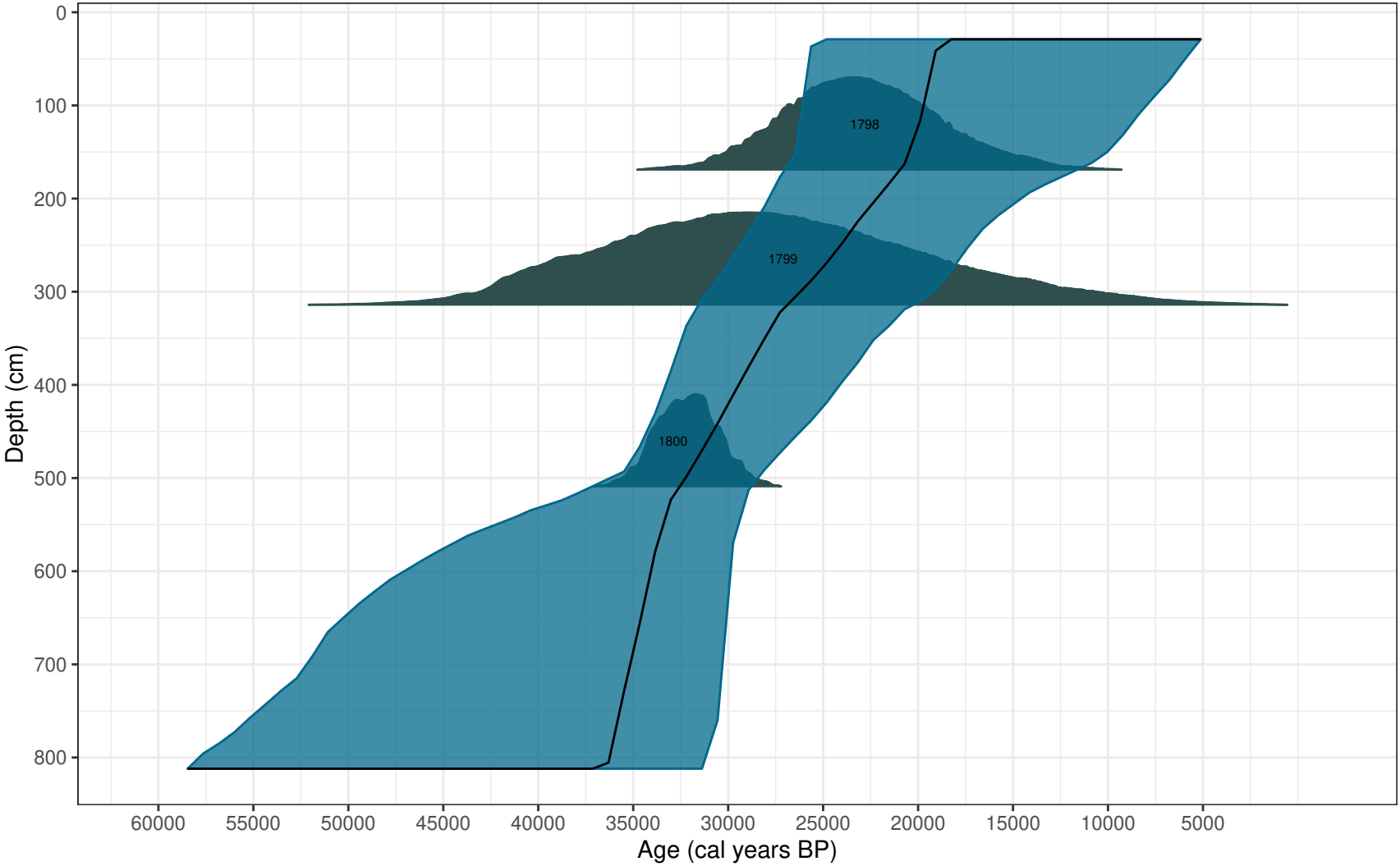

Decoy Lake; Dataset ID 672

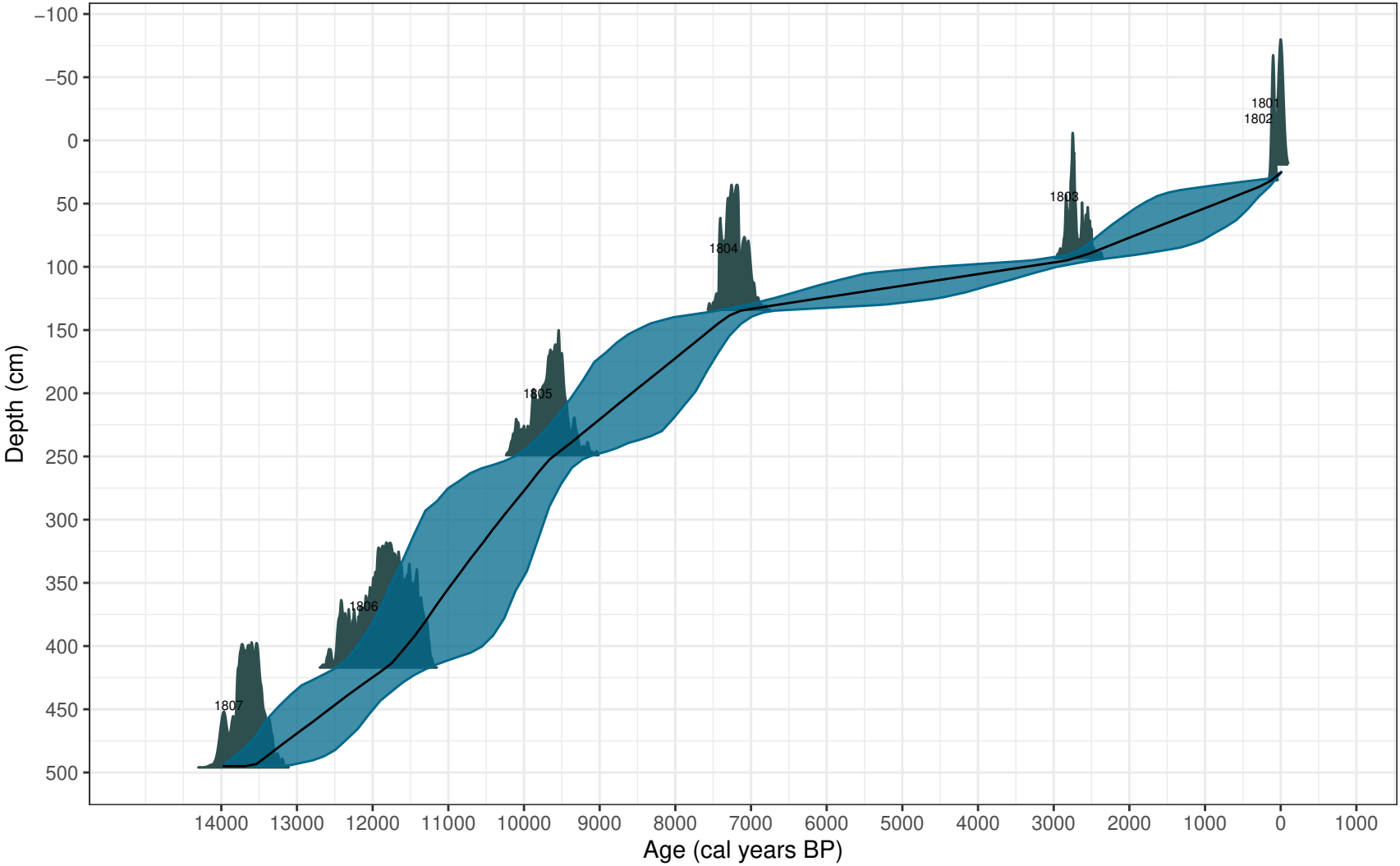

Deer Lake Bog; Dataset ID 673

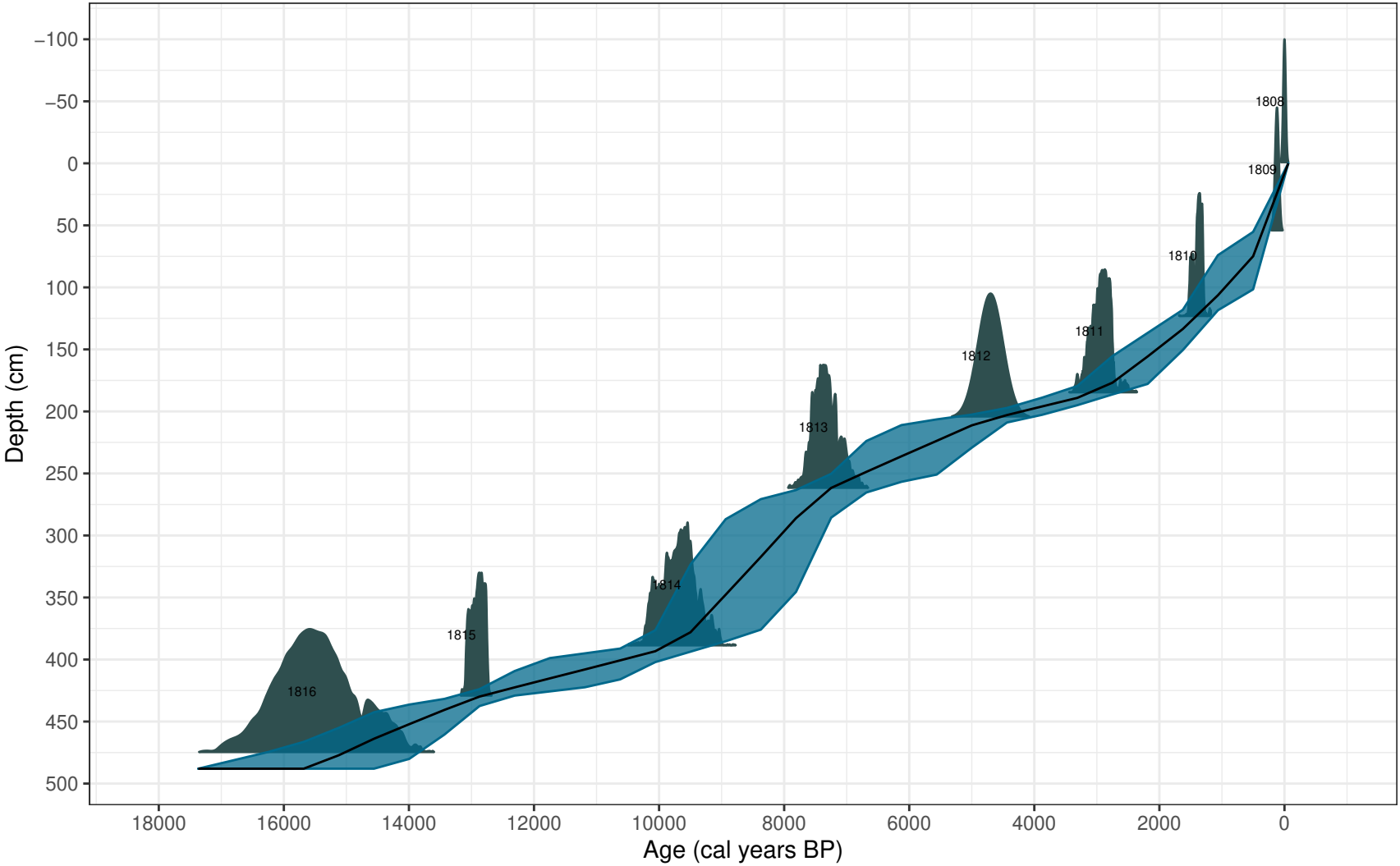

Delorme 1; Dataset ID 675

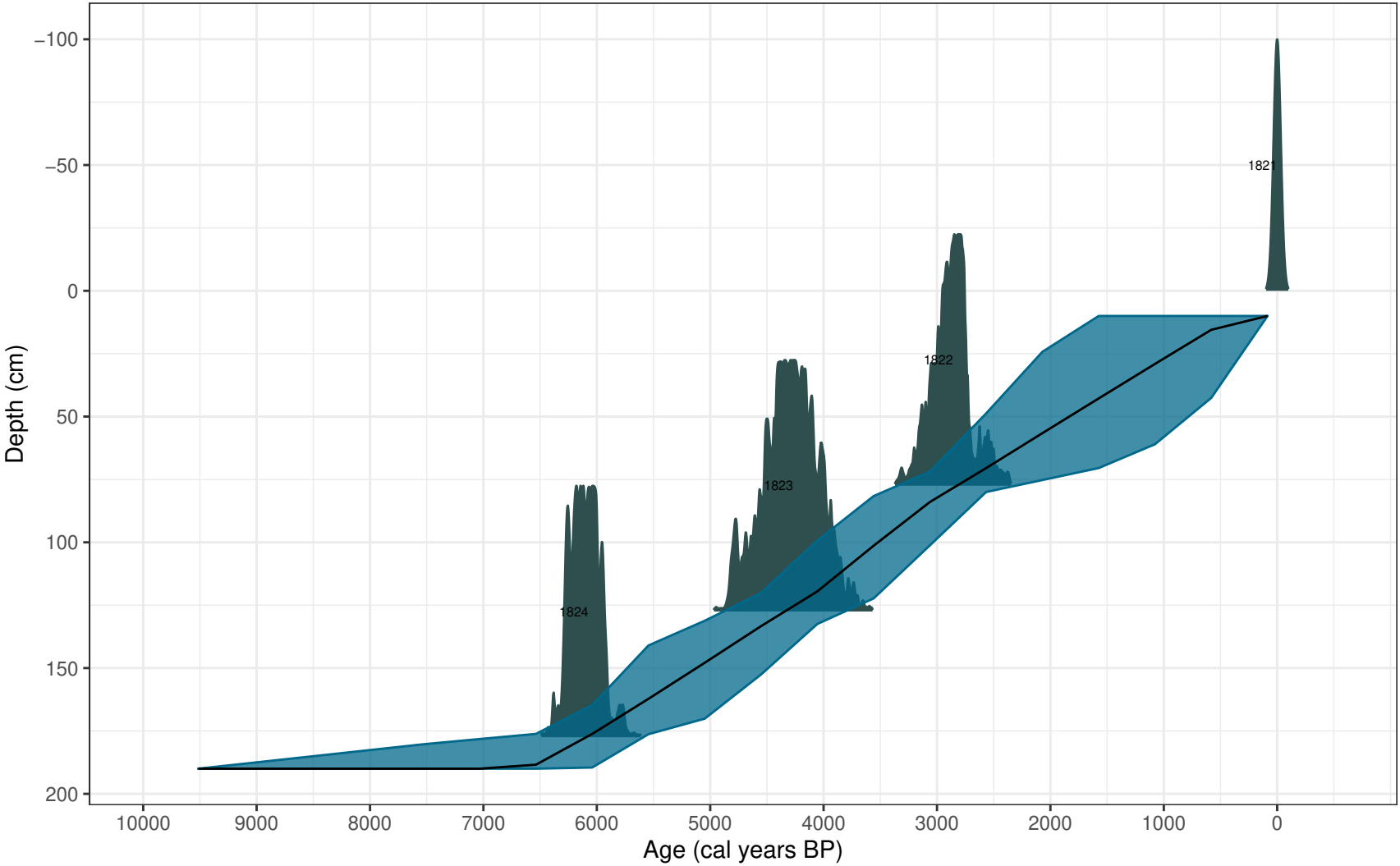

Lac Demain; Dataset ID 678

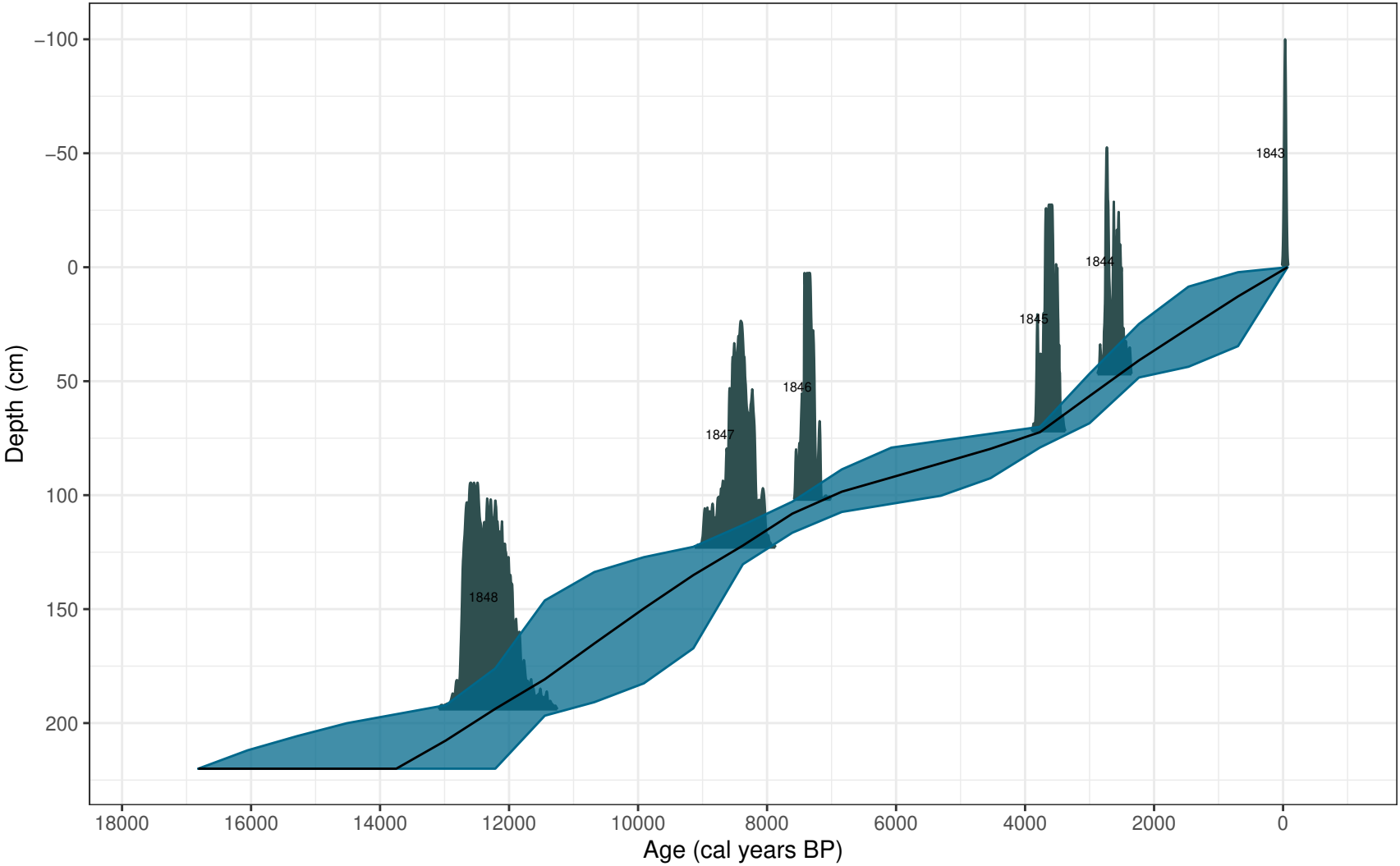

Denton Lake; Dataset ID 681

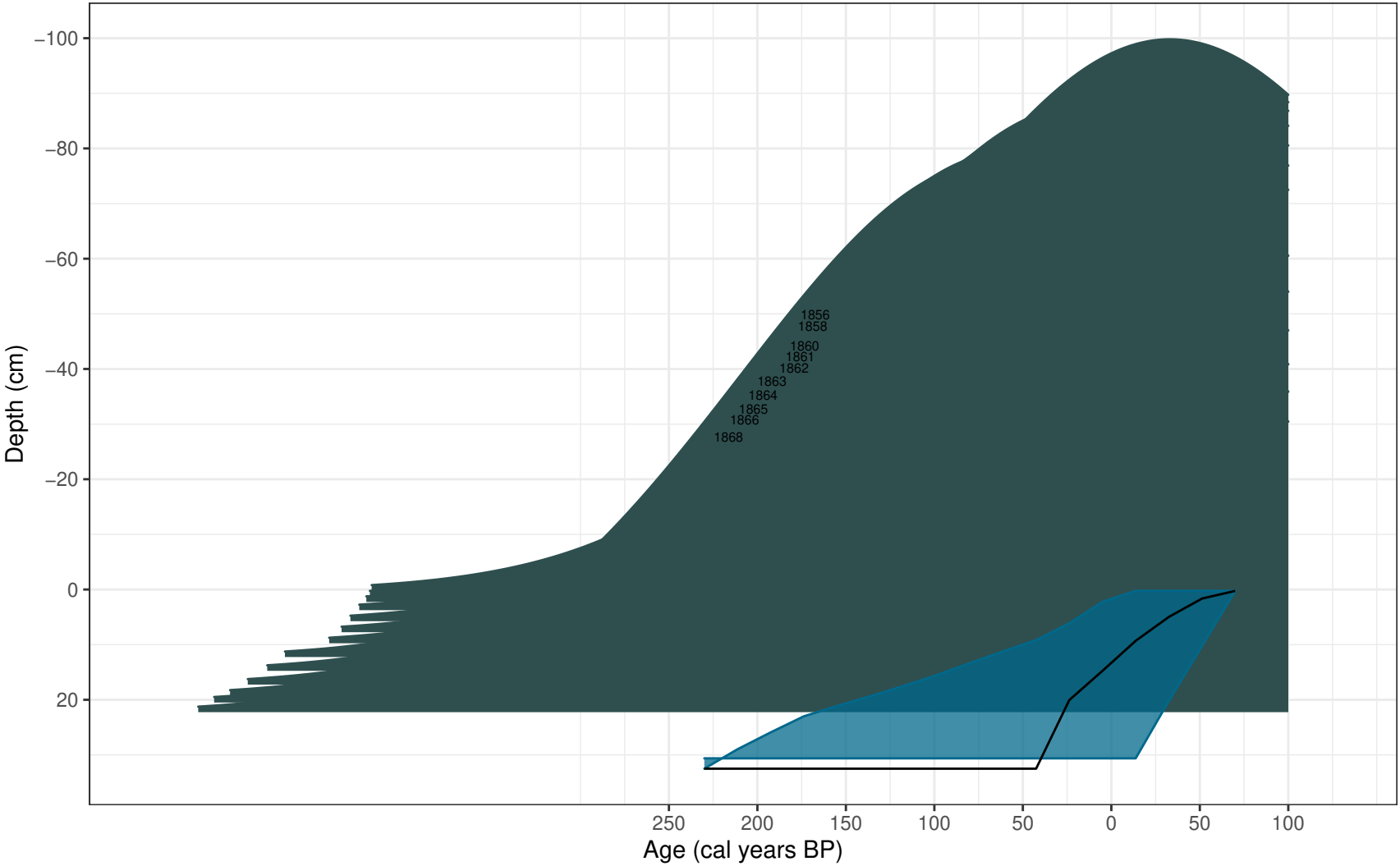

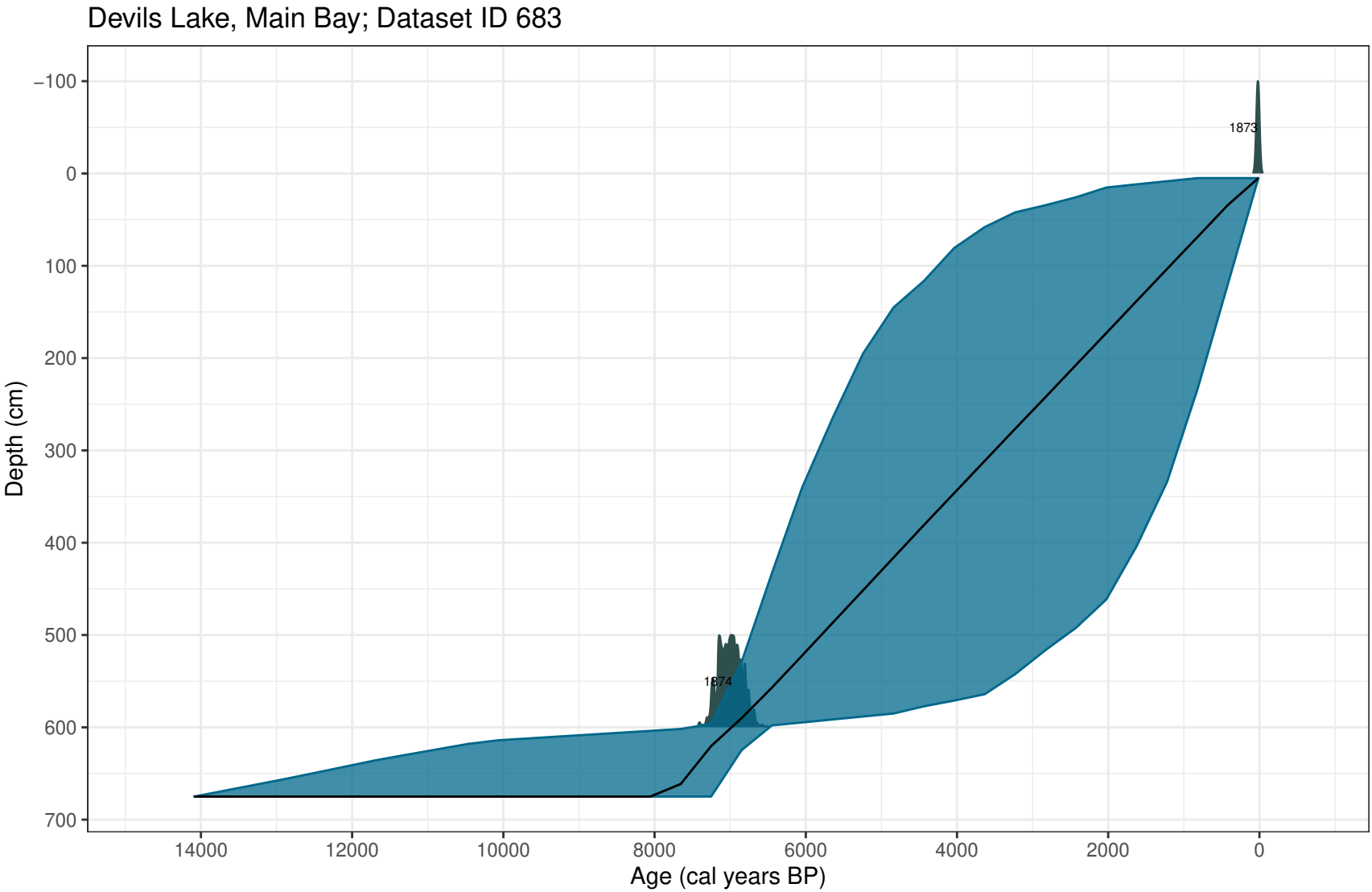
Devils Lake, Main Bay; Dataset ID 683
1873
1874
Depth (cm)
−100
0
100
200
300
400
500
600
700
14000
12000
10000
8000
6000
4000
2000
0
Age (cal years BP)

Diana 375; Dataset ID 688

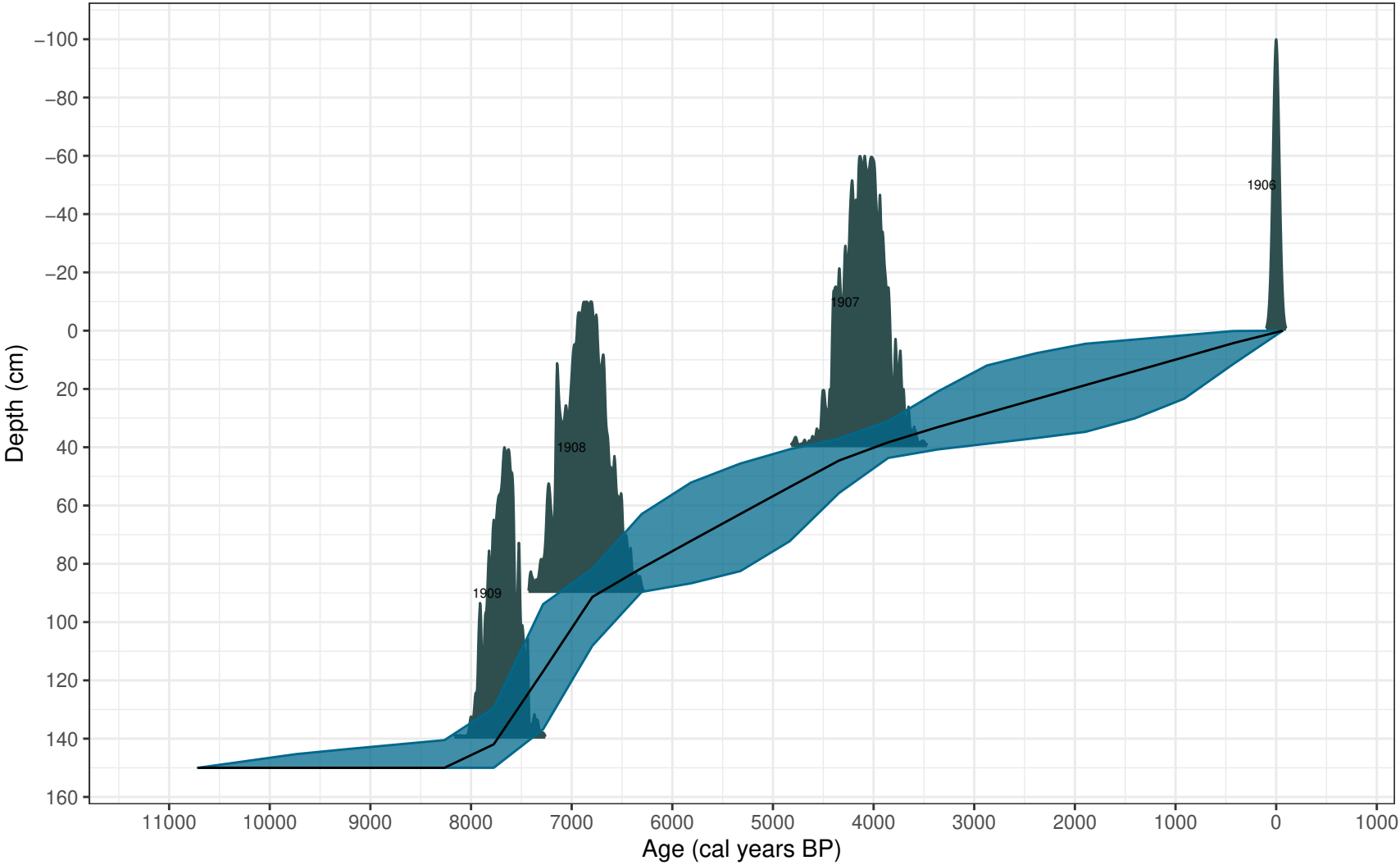

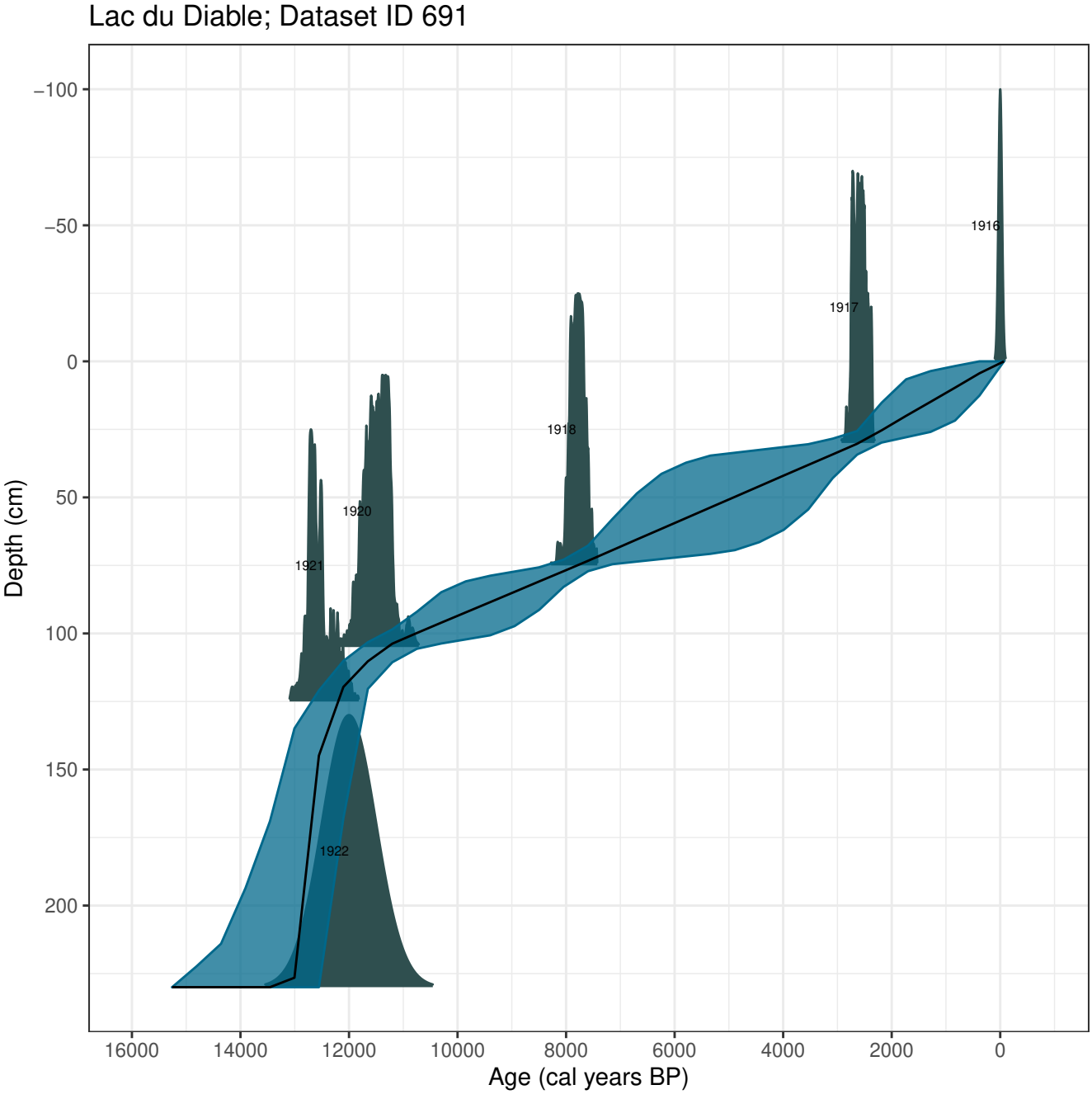
Lac du Diable; Dataset ID 691
Depth (cm)
−100
−50
0
50
100
150
200
Age (cal years BP)
16000
14000
12000
10000
8000
6000
4000
2000
0
1916
1917
1918
1920
1921
1922

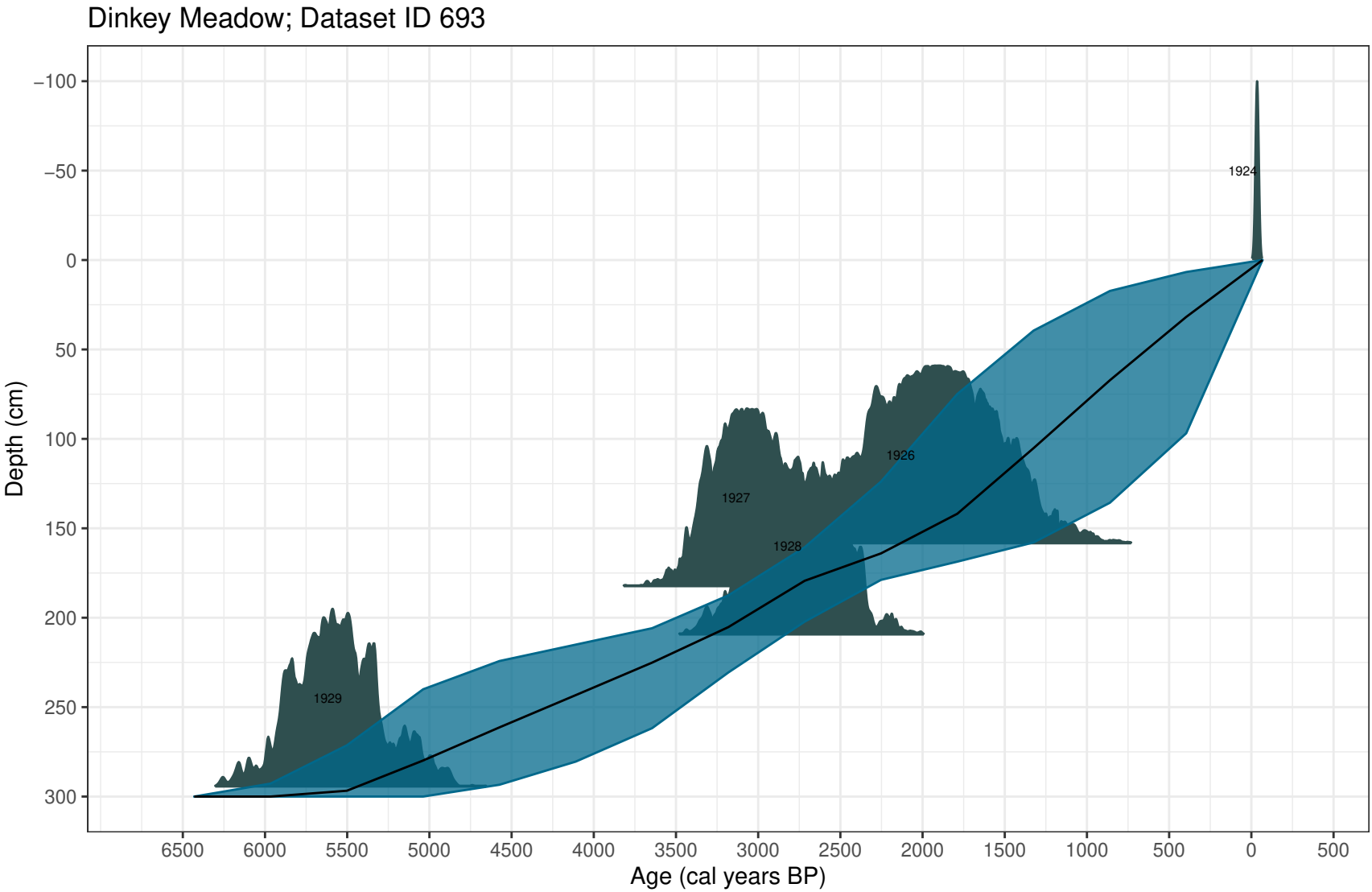
Dinkey Meadow; Dataset ID 693
Depth (cm)
−100
−50
0
50
100
150
200
250
300
Age (cal years BP)
6500
6000
5500
5000
4500
4000
3500
3000
2500
2000
1500
1000
500
0
500
1924
1926
1927
1928
1929

Dismal Swamp (91); Dataset ID 699

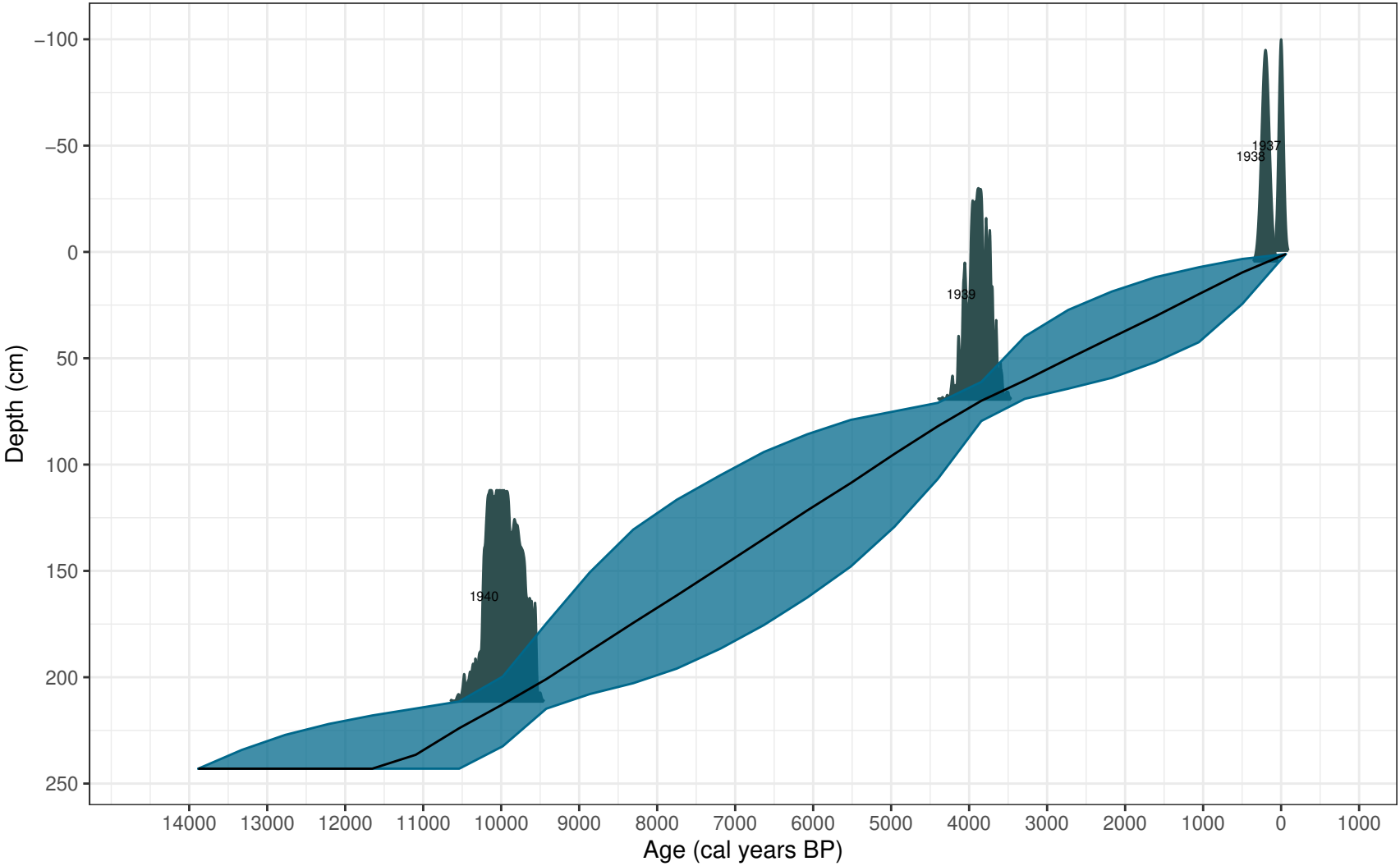

Three Pines Bog; Dataset ID 7

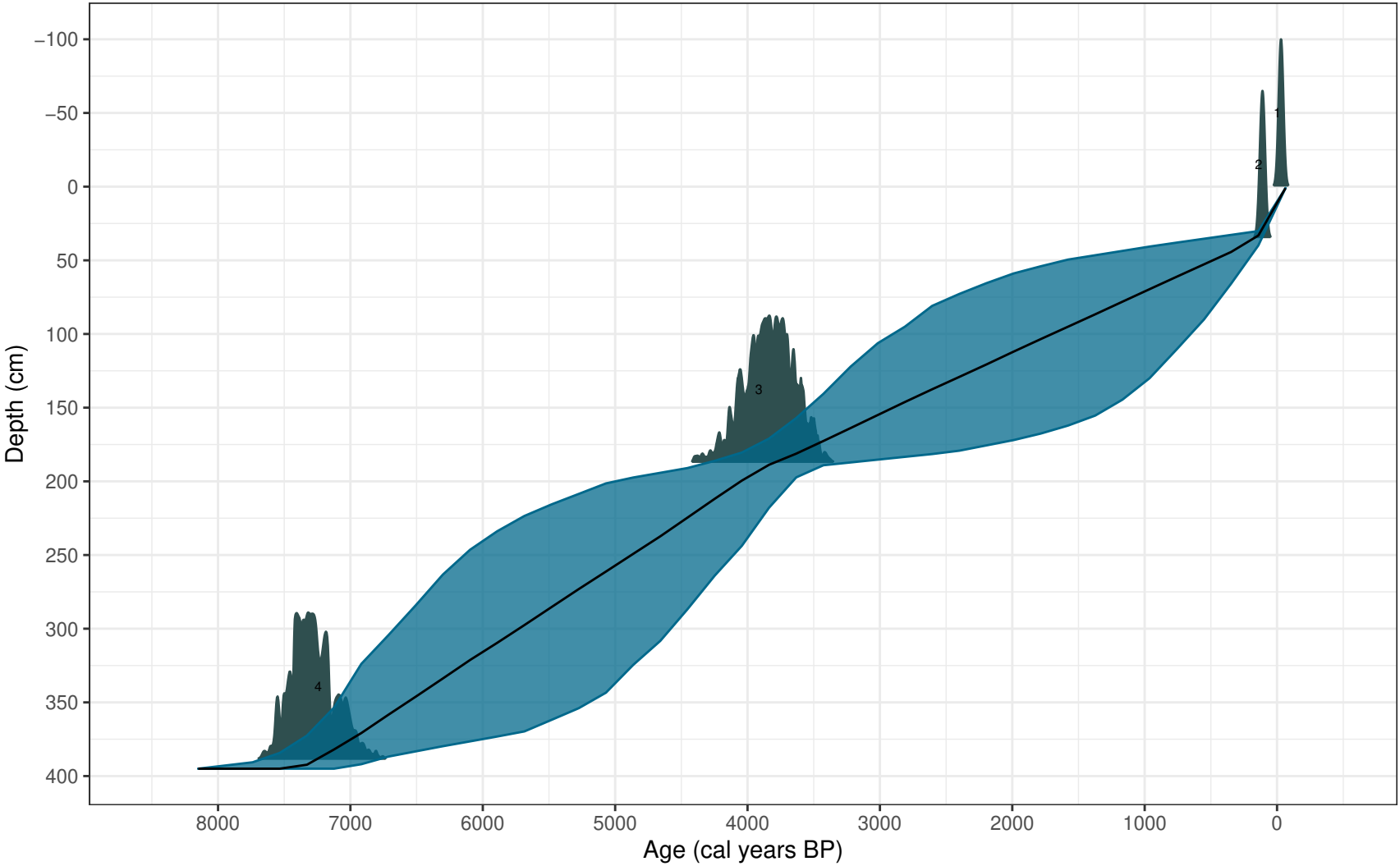

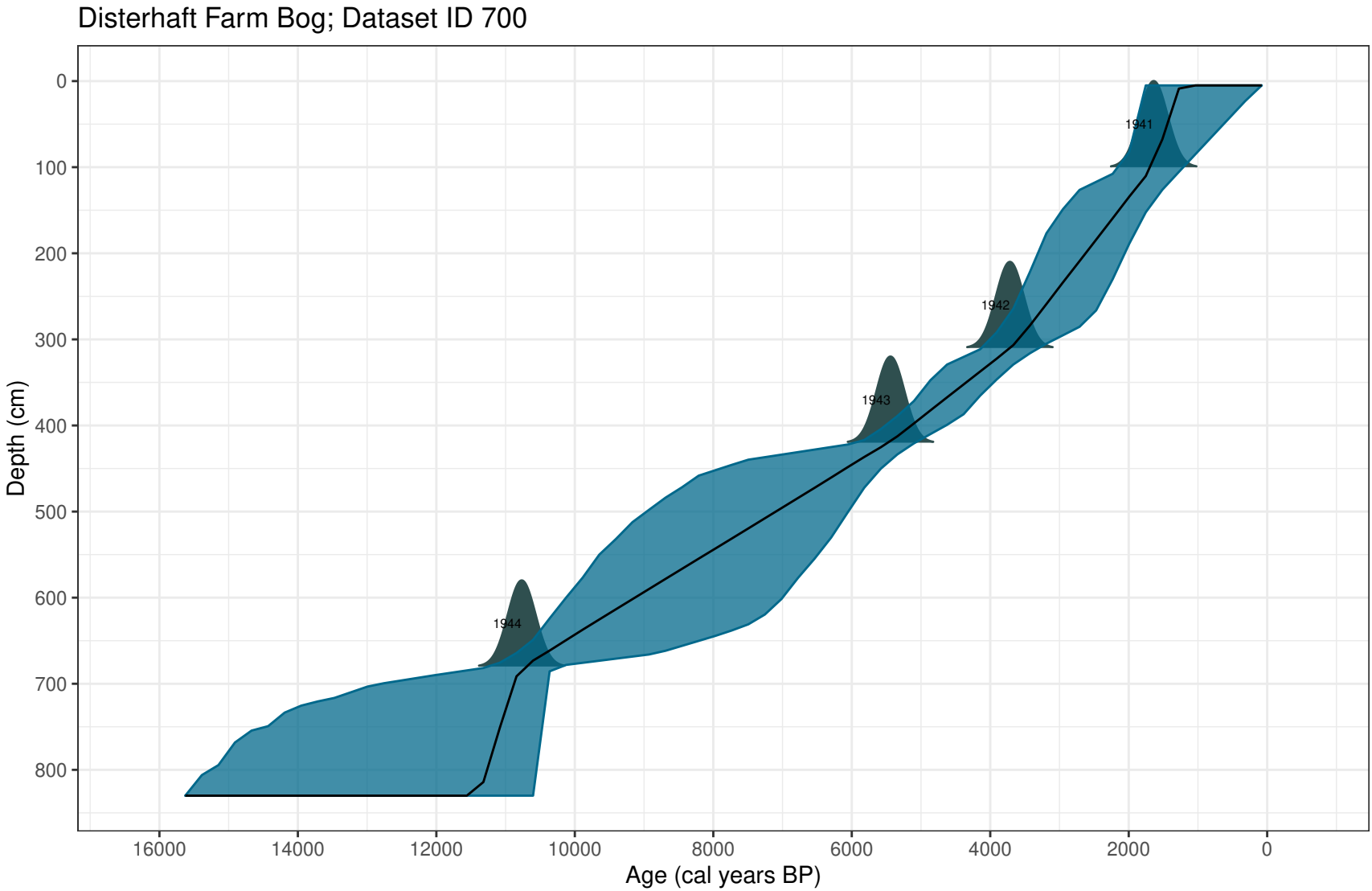
Disterhaft Farm Bog; Dataset ID 700
Depth (cm)
0
100
200
300
400
500
600
700
800
1941
1942
1943
1944
16000
14000
12000
10000
8000
6000
4000
2000
0
Age (cal years BP)

Divide Lake; Dataset ID 701

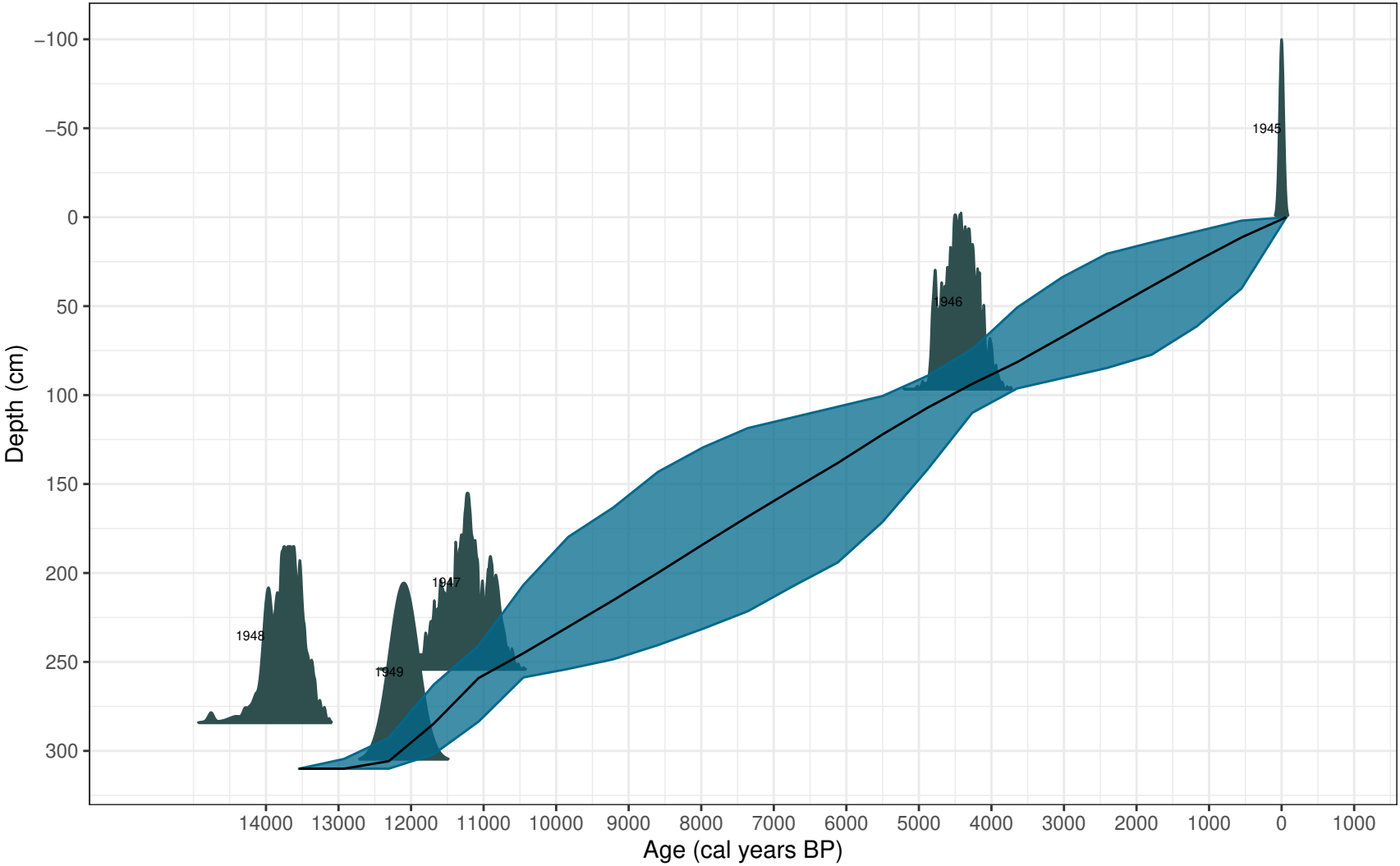

Dome Creek Meadow; Dataset ID 719

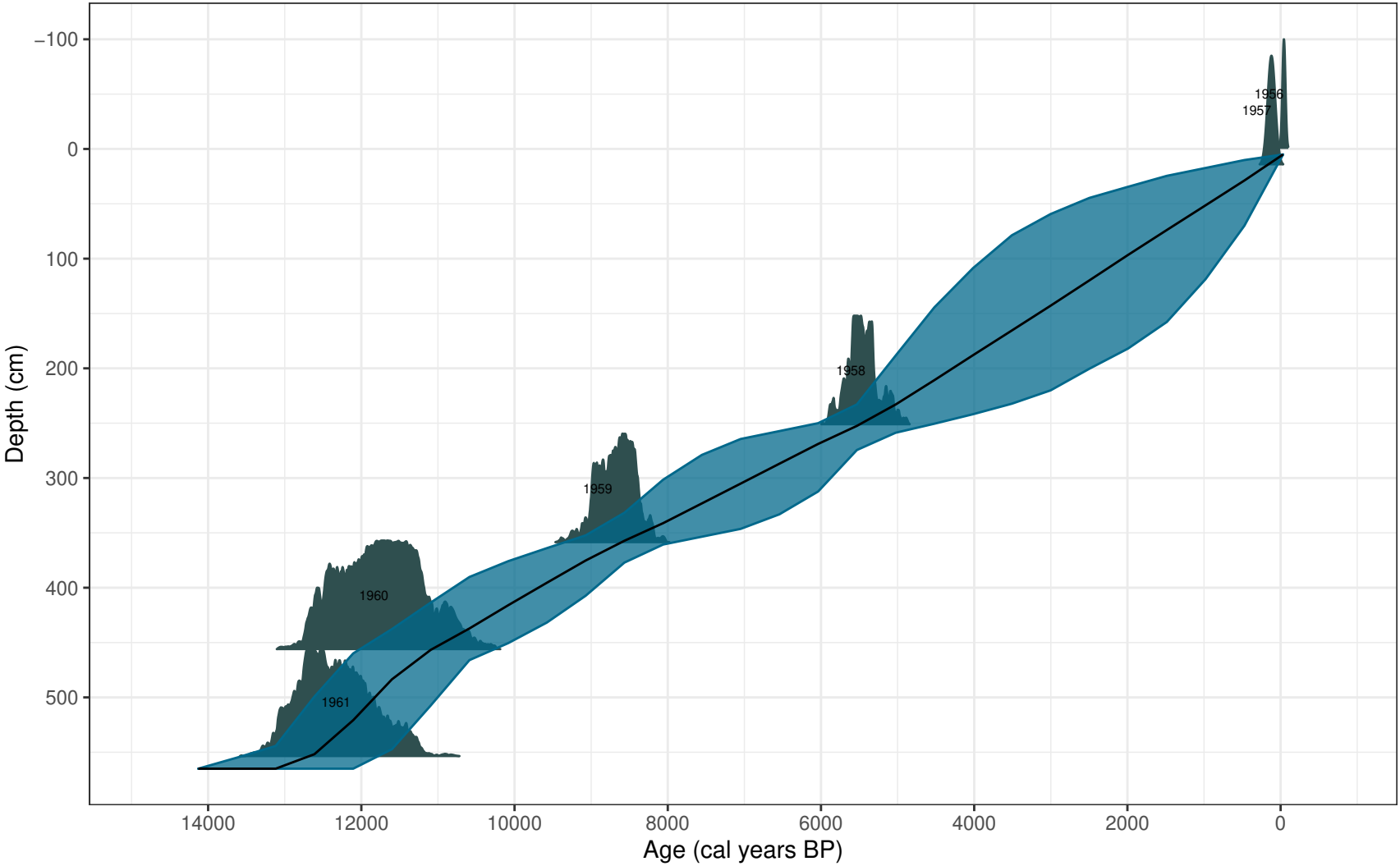

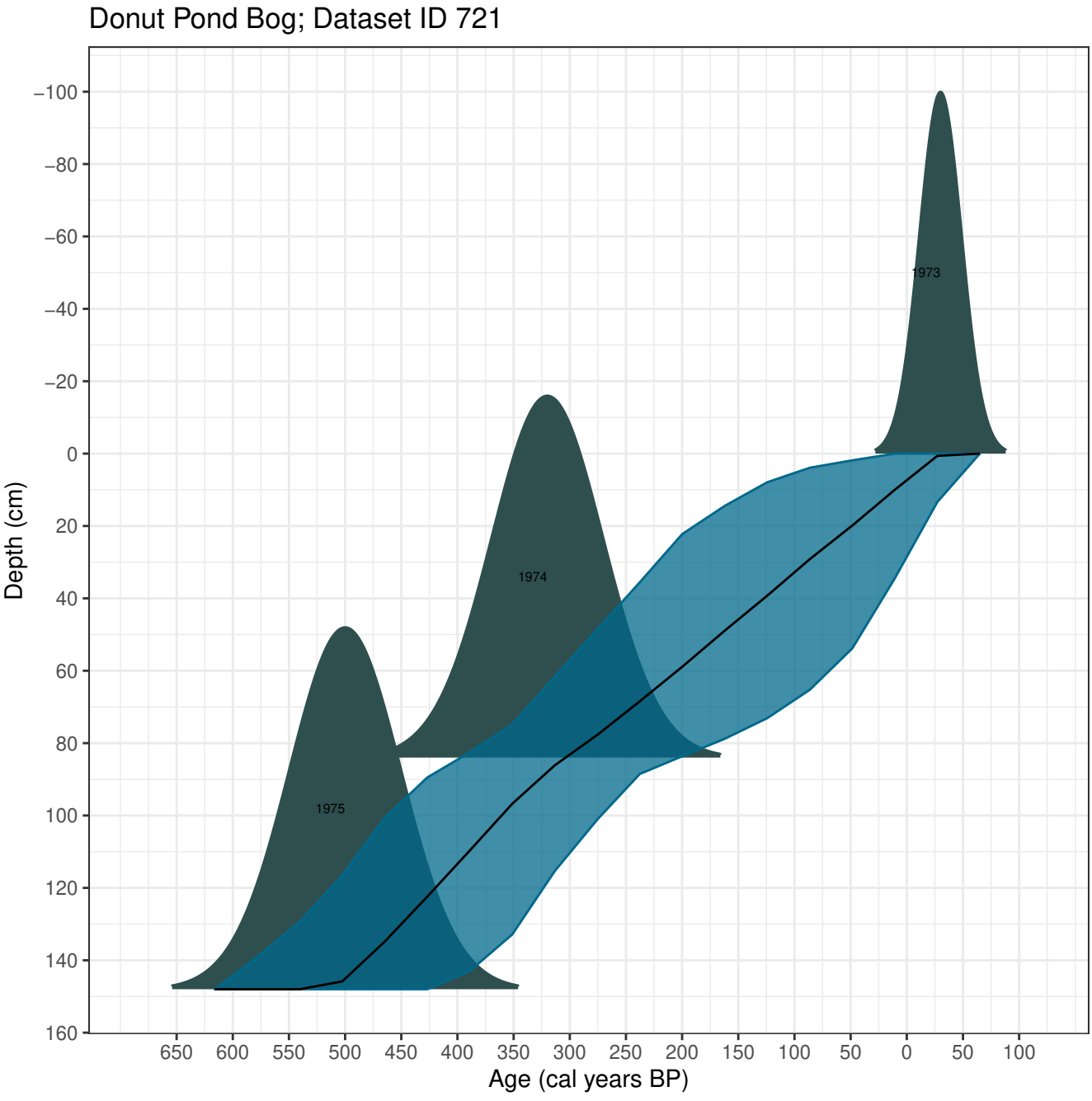
Donut Pond Bog; Dataset ID 721
Depth (cm)
−100
−80
−60
−40
−20
0
20
40
60
80
100
120
140
160
1973
1974
1975
650
600
550
500
450
400
350
300
250
200
150
100
50
0
50
100
Age (cal years BP)

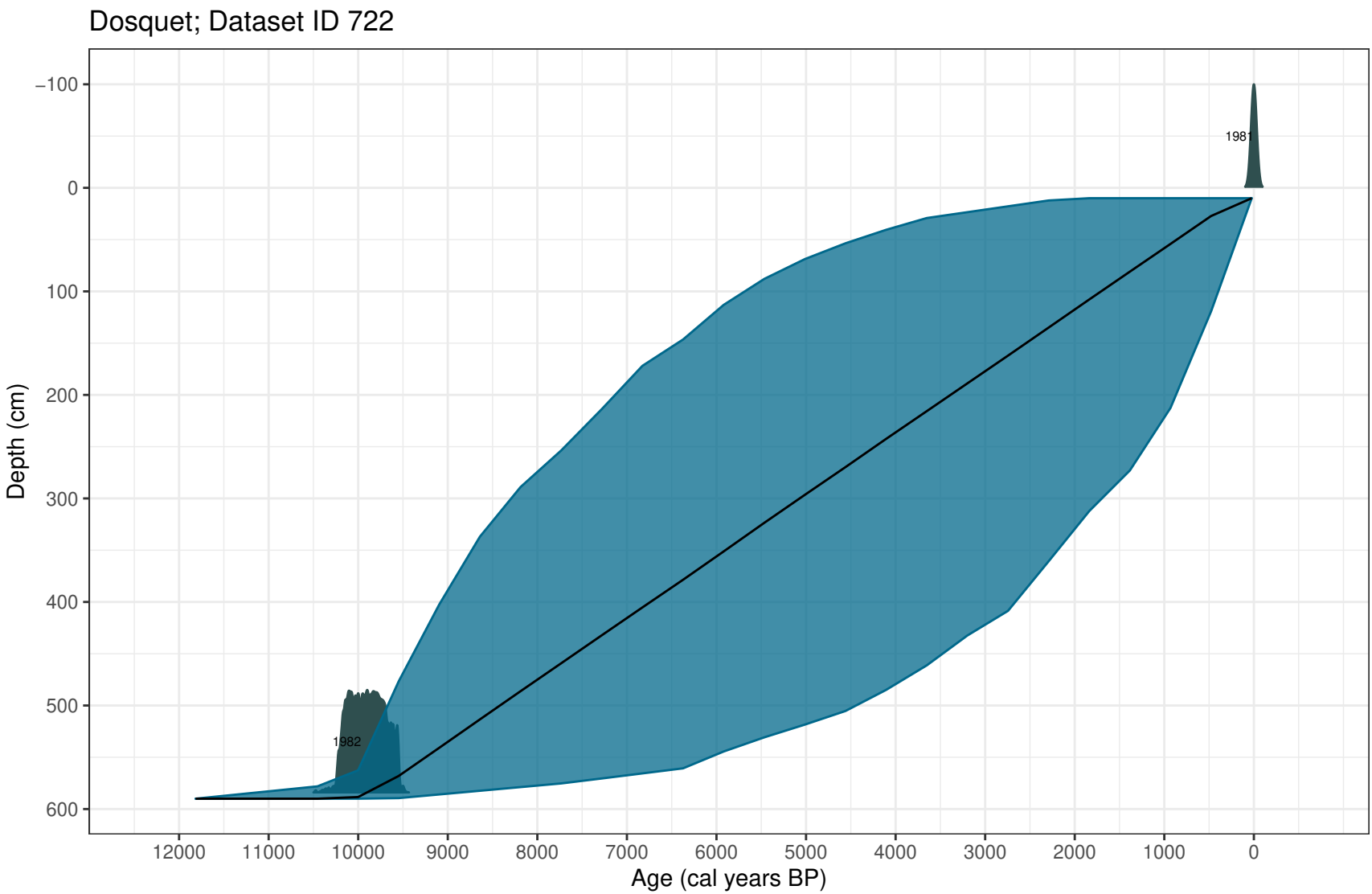
Dosquet; Dataset ID 722
Depth (cm)
−100
0
100
200
300
400
500
600
1981
1982
12000
11000
10000
9000
8000
7000
6000
5000
4000
3000
2000
1000
0
Age (cal years BP)

Duck Pond; Dataset ID 772

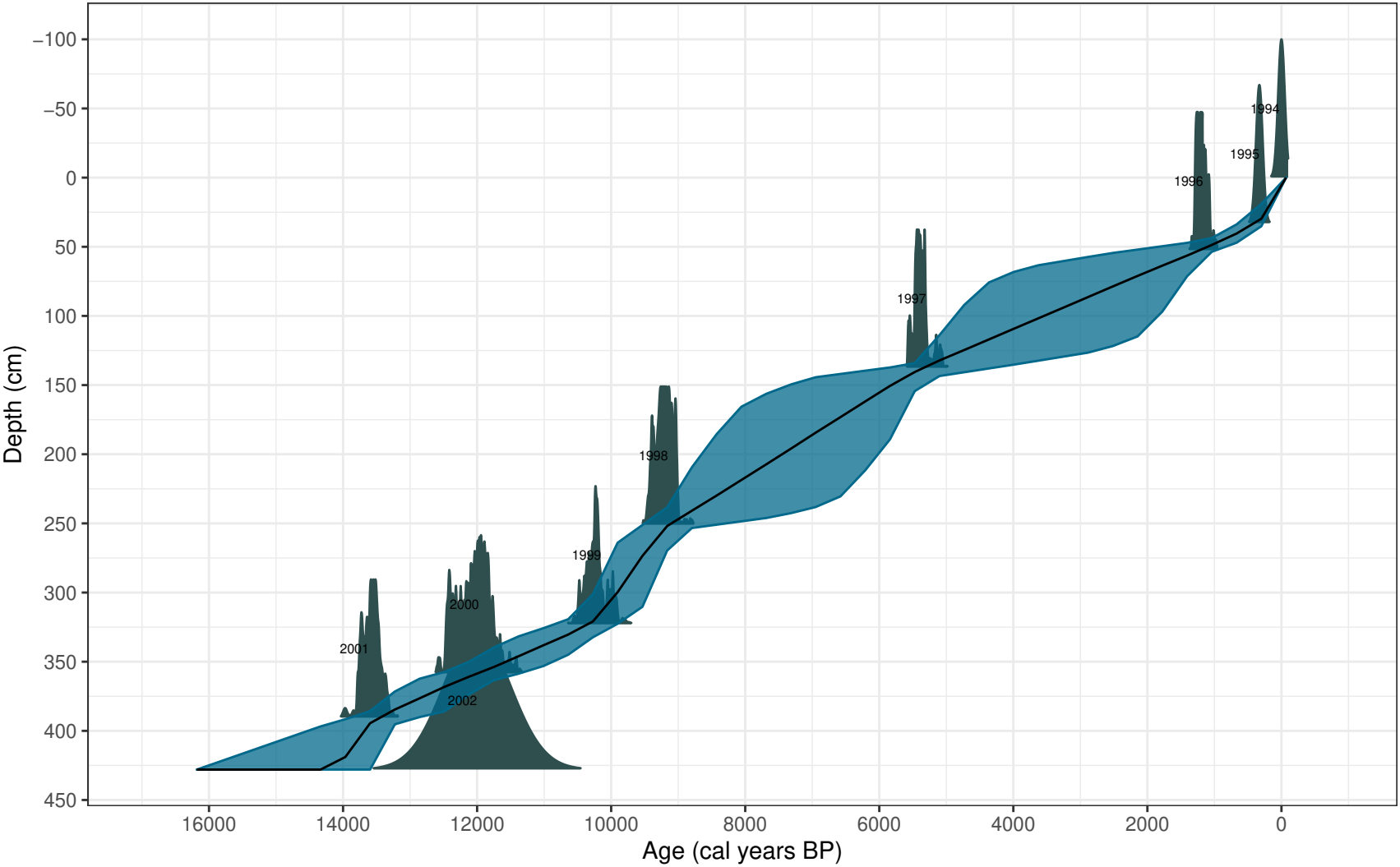

Lac Dufresne; Dataset ID 773

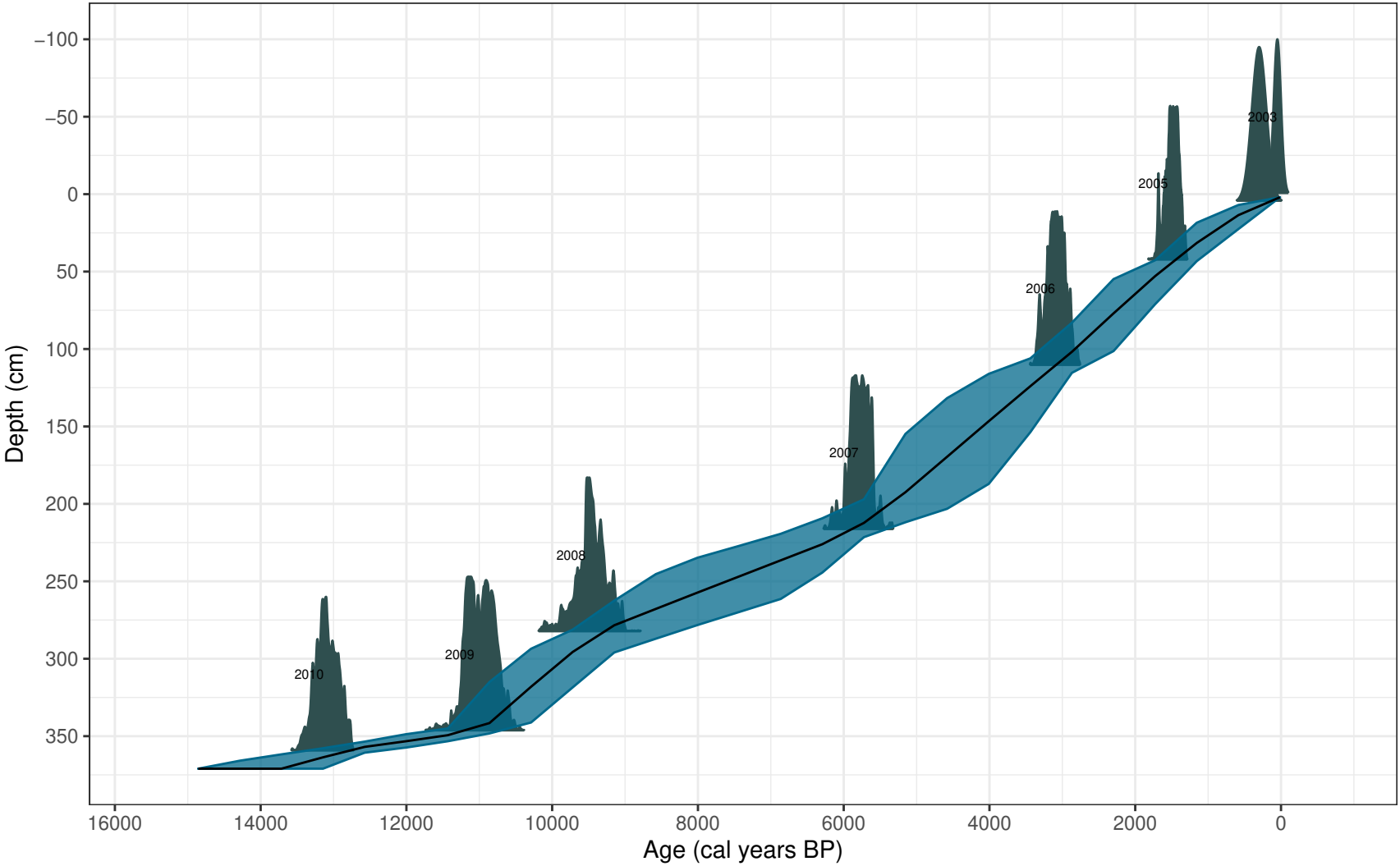

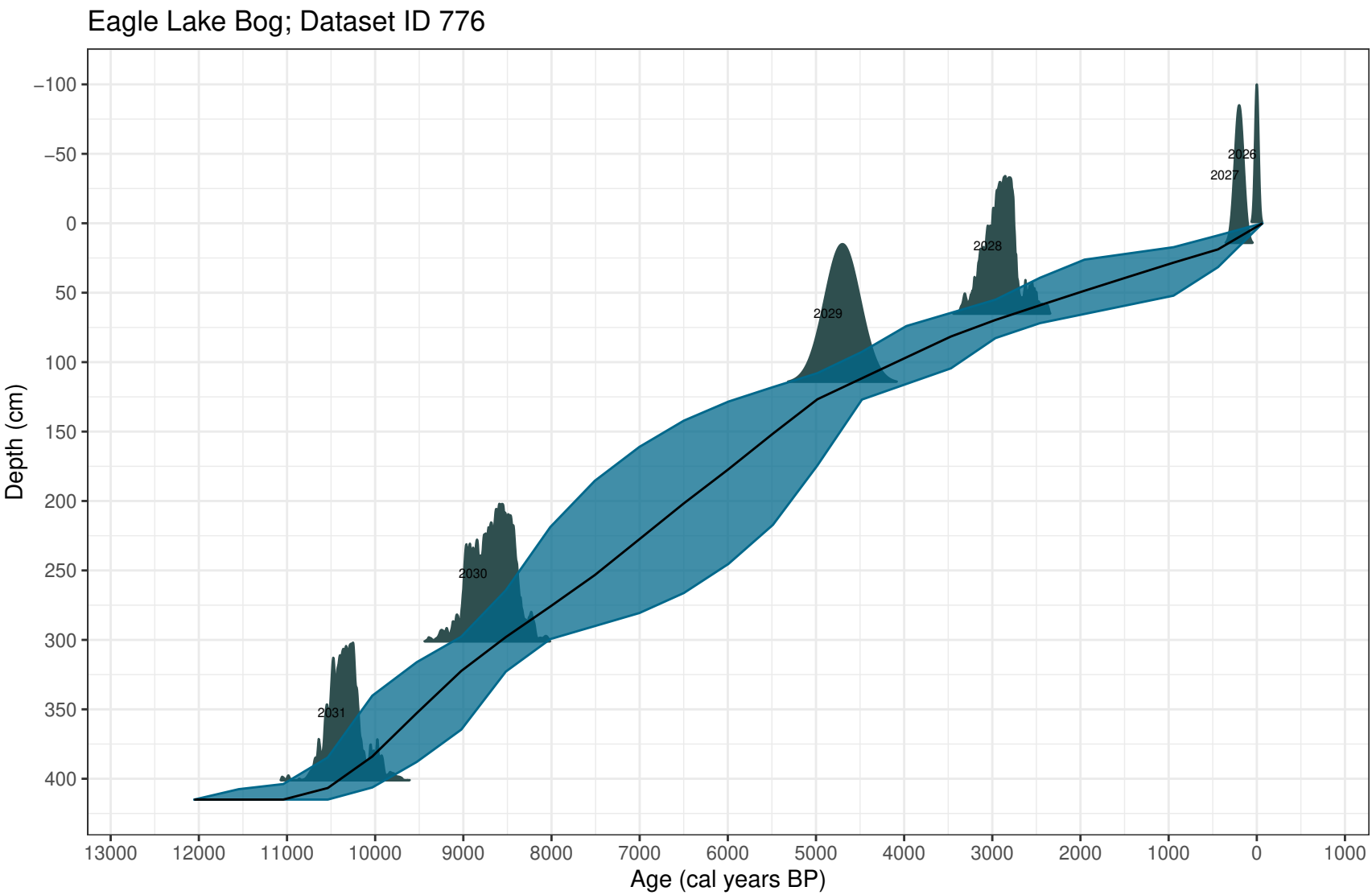
Eagle Lake Bog; Dataset ID 776
Depth (cm)
−100
−50
0
50
100
150
200
250
300
350
400
Age (cal years BP)
13000
12000
11000
10000
9000
8000
7000
6000
5000
4000
3000
2000
1000
0
1000
2026
2027
2028
2029
2030
2031

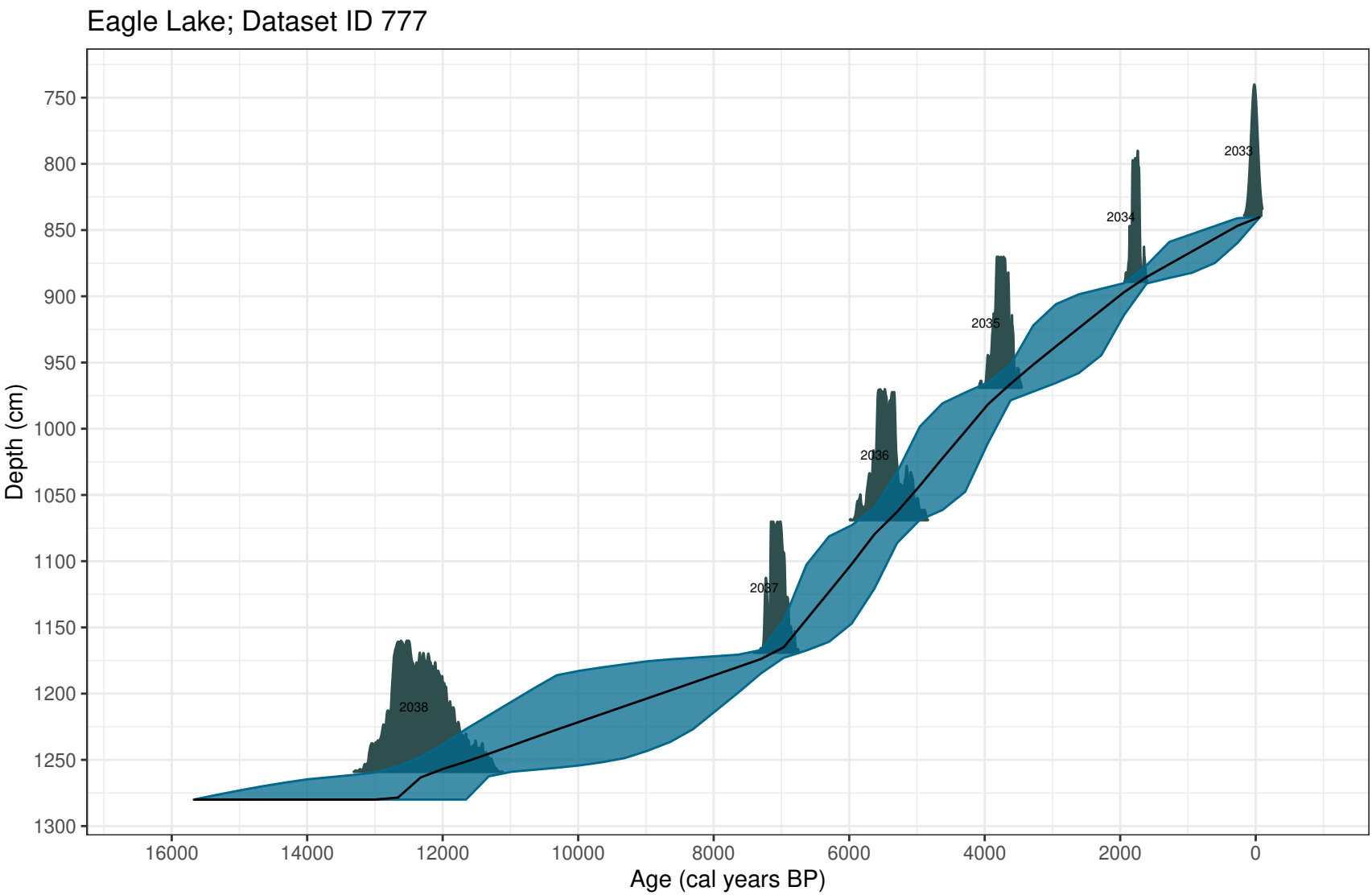
Eagle Lake; Dataset ID 777
Depth (cm)
750
800
850
900
950
1000
1050
1100
1150
1200
1250
1300
16000
14000
12000
10000
8000
6000
4000
2000
0
Age (cal years BP)
2033
2034
2035
2036
2037
2038

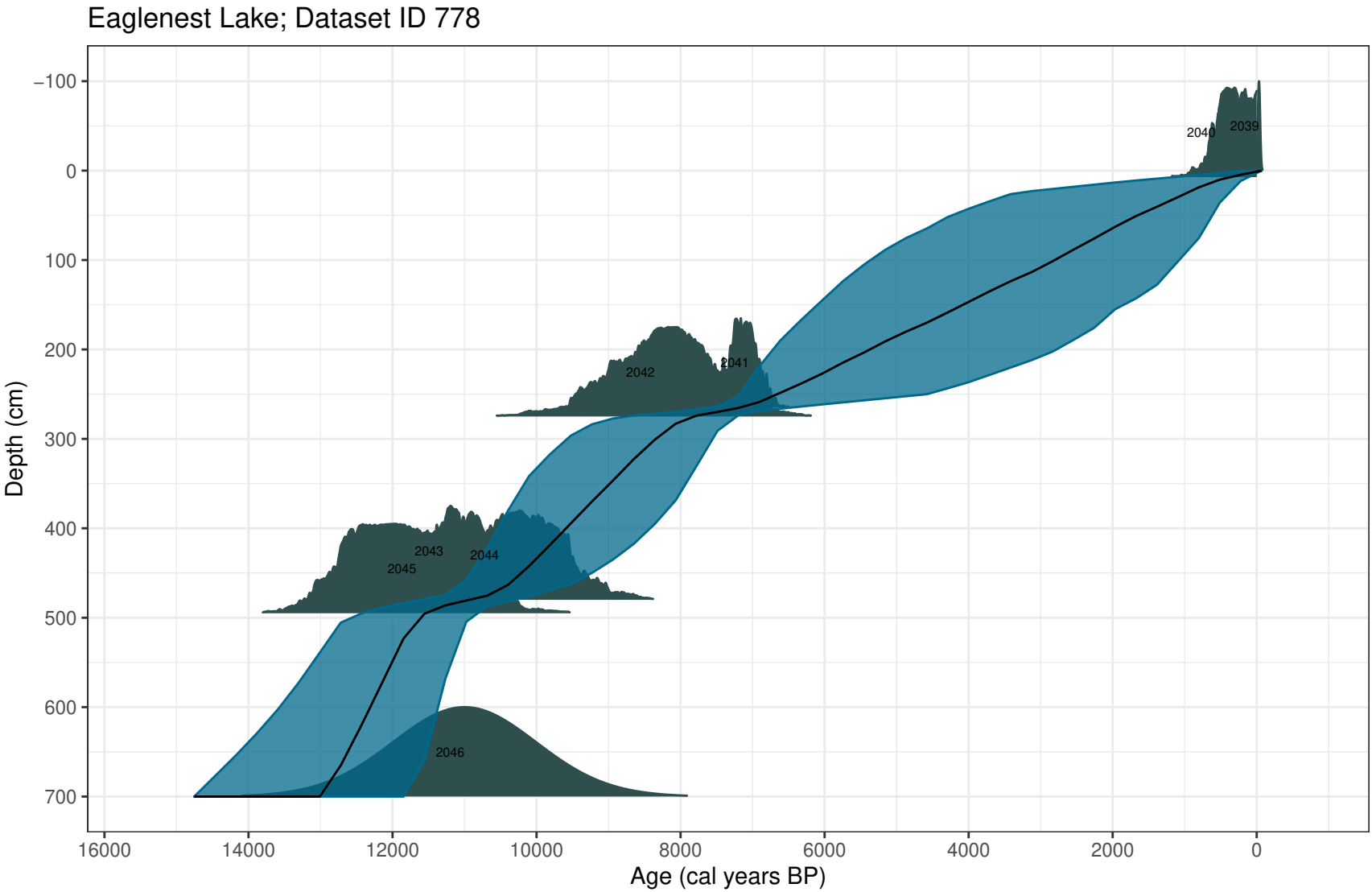
Eaglenest Lake; Dataset ID 778
Depth (cm)
−100
0
100
200
300
400
500
600
700
Age (cal years BP)
16000
14000
12000
10000
8000
6000
4000
2000
0
2039
2040
2041
2042
2043
2044
2045
2046

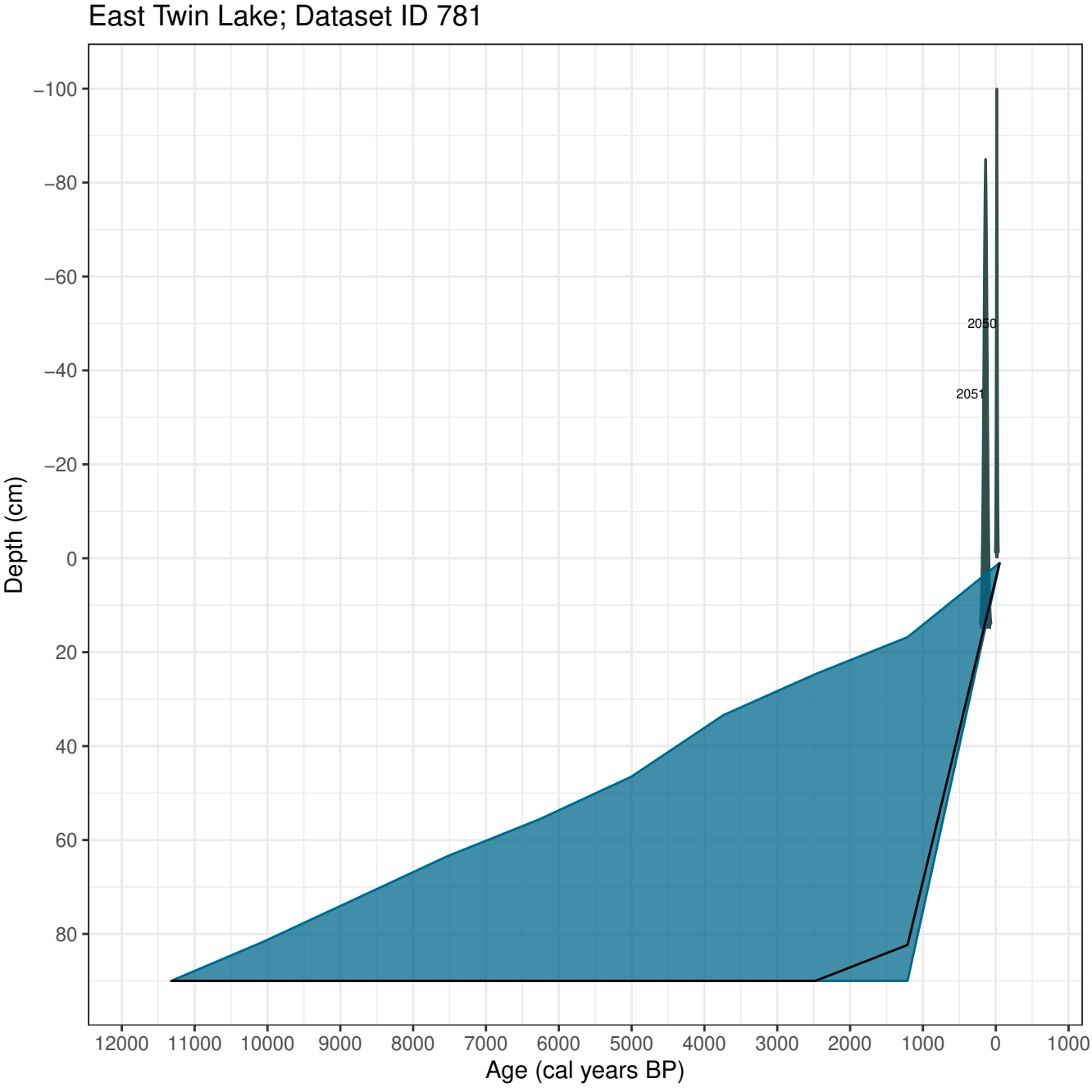
East Twin Lake; Dataset ID 781
Depth (cm)
−100
−80
−60
−40
−20
0
20
40
60
80
2050
2051
12000
11000
10000
9000
8000
7000
6000
5000
4000
3000
2000
1000
0
1000
Age (cal years BP)

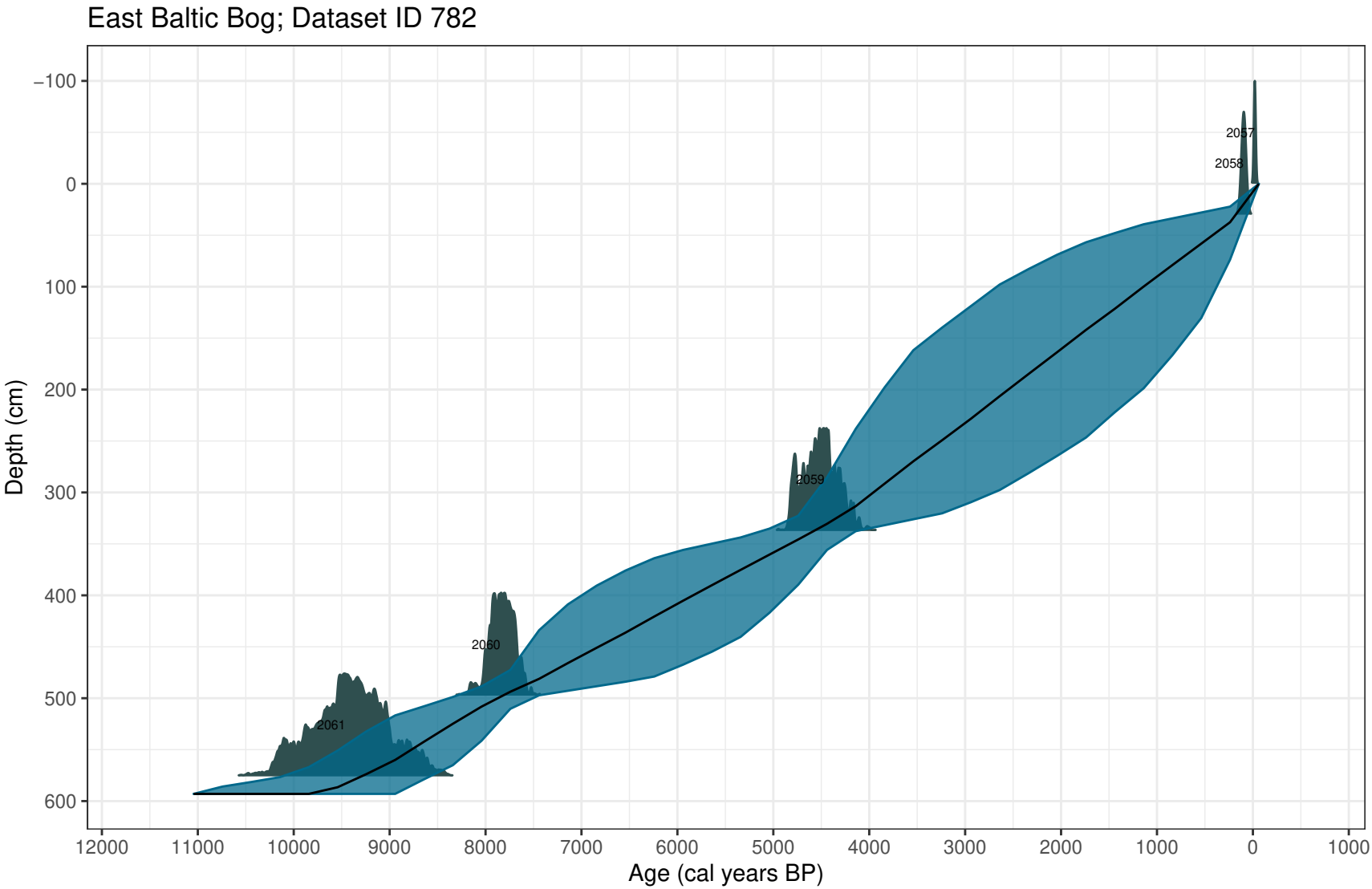
East Baltic Bog; Dataset ID 782
Depth (cm)
−100
0
100
200
300
400
500
600
Age (cal years BP)
12000
11000
10000
9000
8000
7000
6000
5000
4000
3000
2000
1000
0
1000
2057
2058
2059
2060
2061

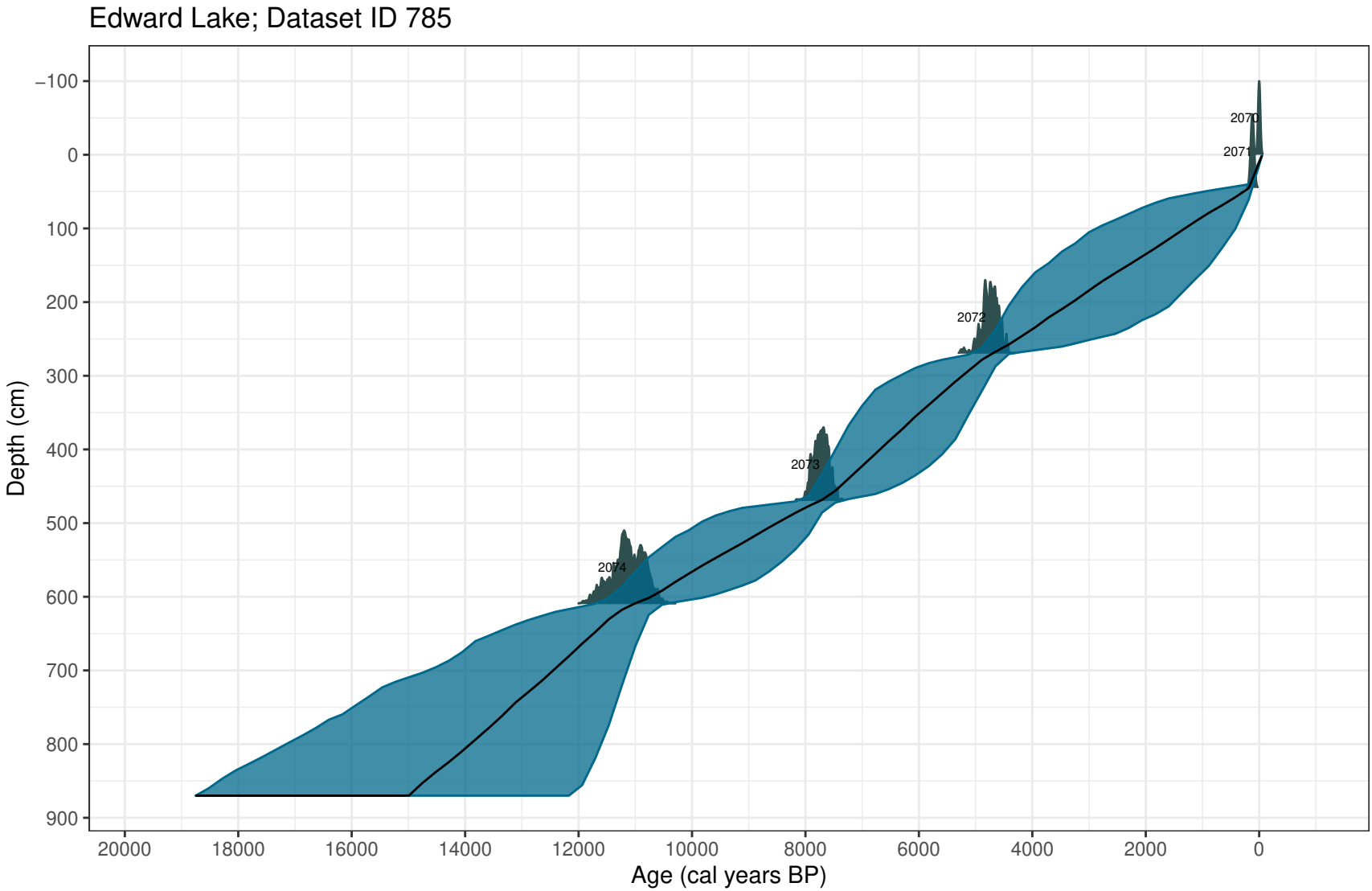
Edward Lake; Dataset ID 785
Depth (cm)
−100
0
100
200
300
400
500
600
700
800
900
Age (cal years BP)
20000
18000
16000
14000
12000
10000
8000
6000
4000
2000
0
2070
2071
2072
2073
2074

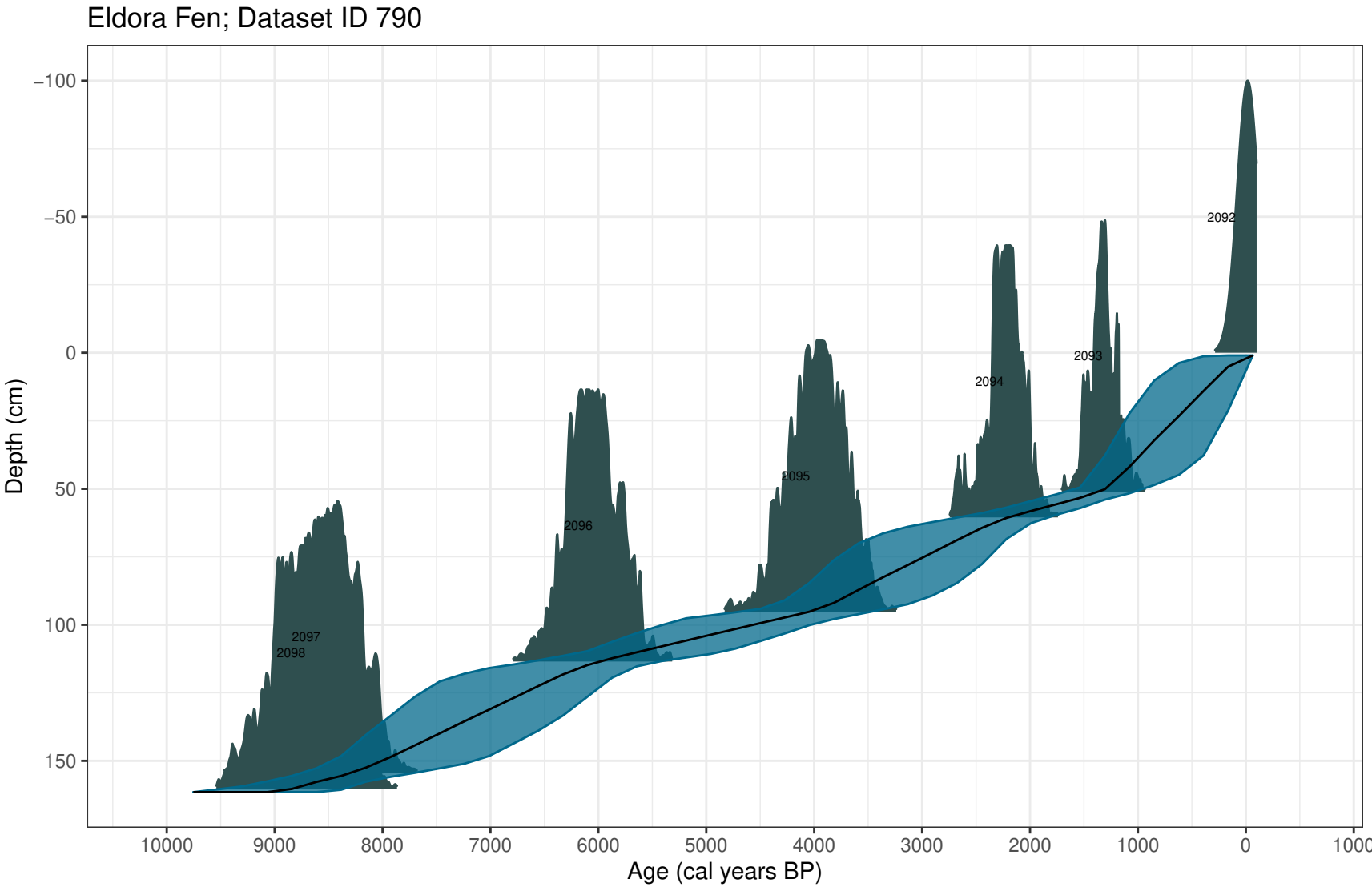
Eldora Fen; Dataset ID 790
Depth (cm)
−100
−50
0
50
100
150
Age (cal years BP)
10000
9000
8000
7000
6000
5000
4000
3000
2000
1000
0
1000
2092
2093
2094
2095
2096
2097
2098

Emerald Lake; Dataset ID 796

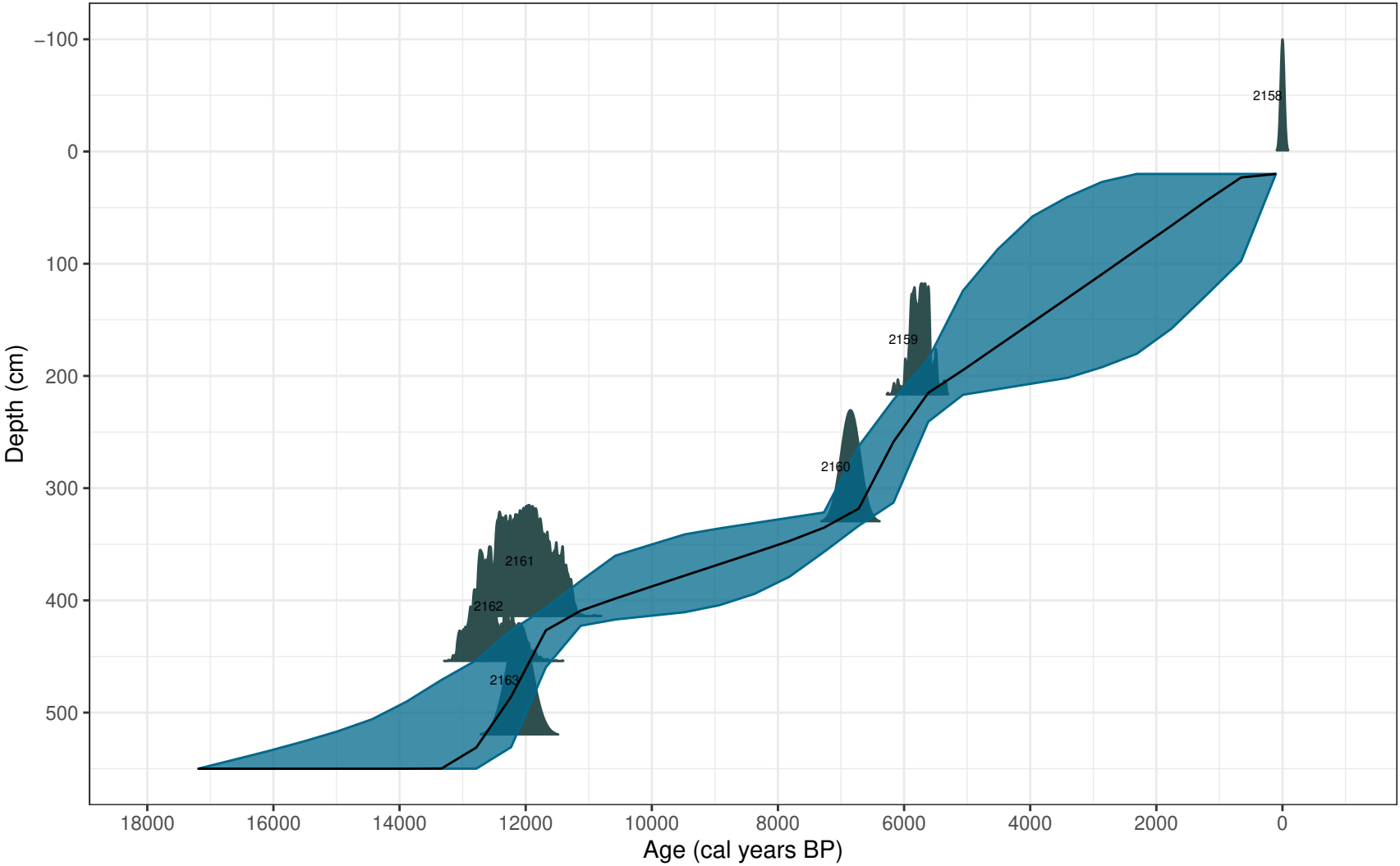

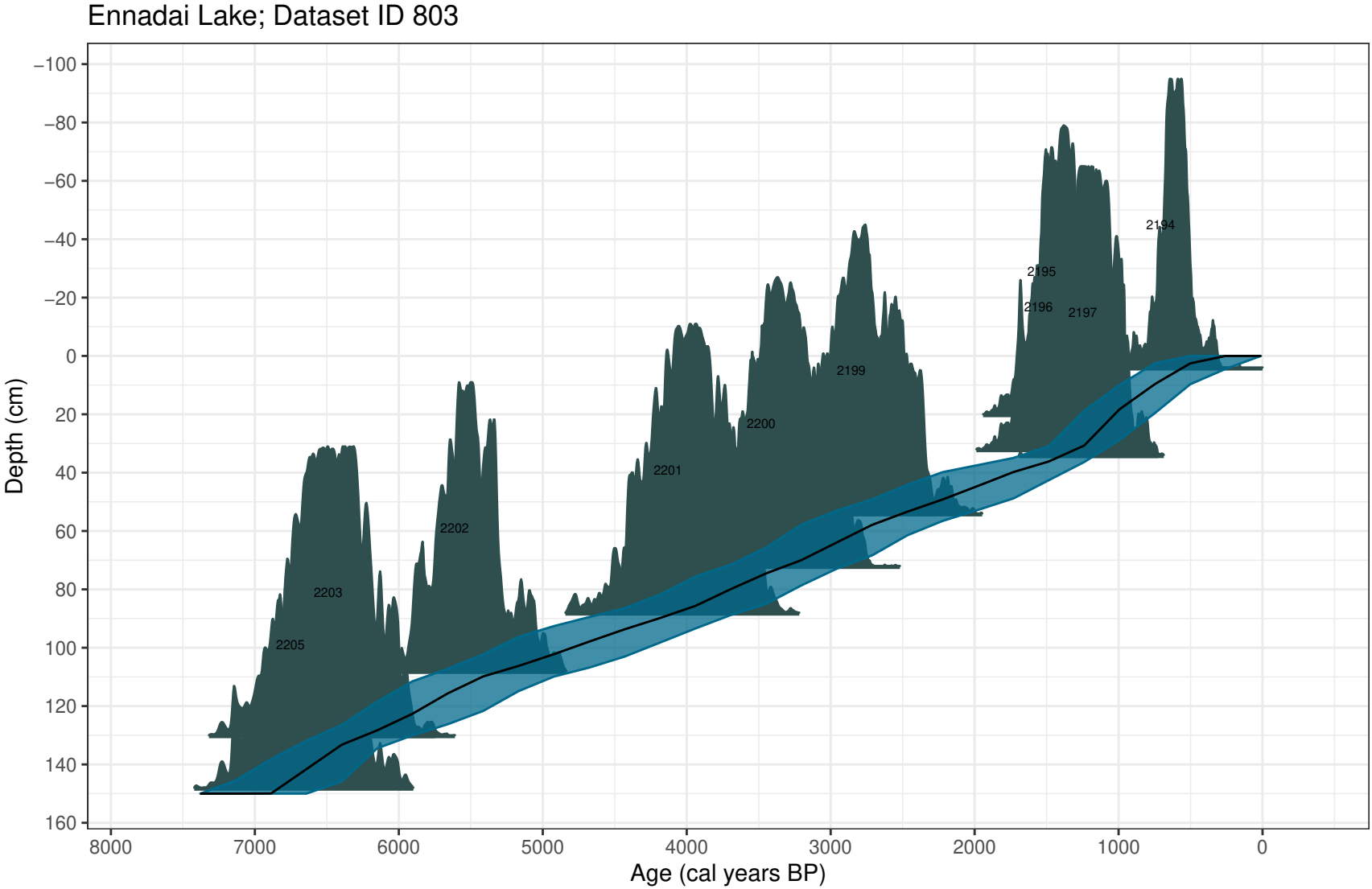
Ennadai Lake; Dataset ID 803
Depth (cm)
Age (cal years BP)
−100
−80
−60
−40
−20
0
20
40
60
80
100
120
140
160
8000
7000
6000
5000
4000
3000
2000
1000
0
2194
2195
2196
2197
2199
2200
2201
2202
2203
2205

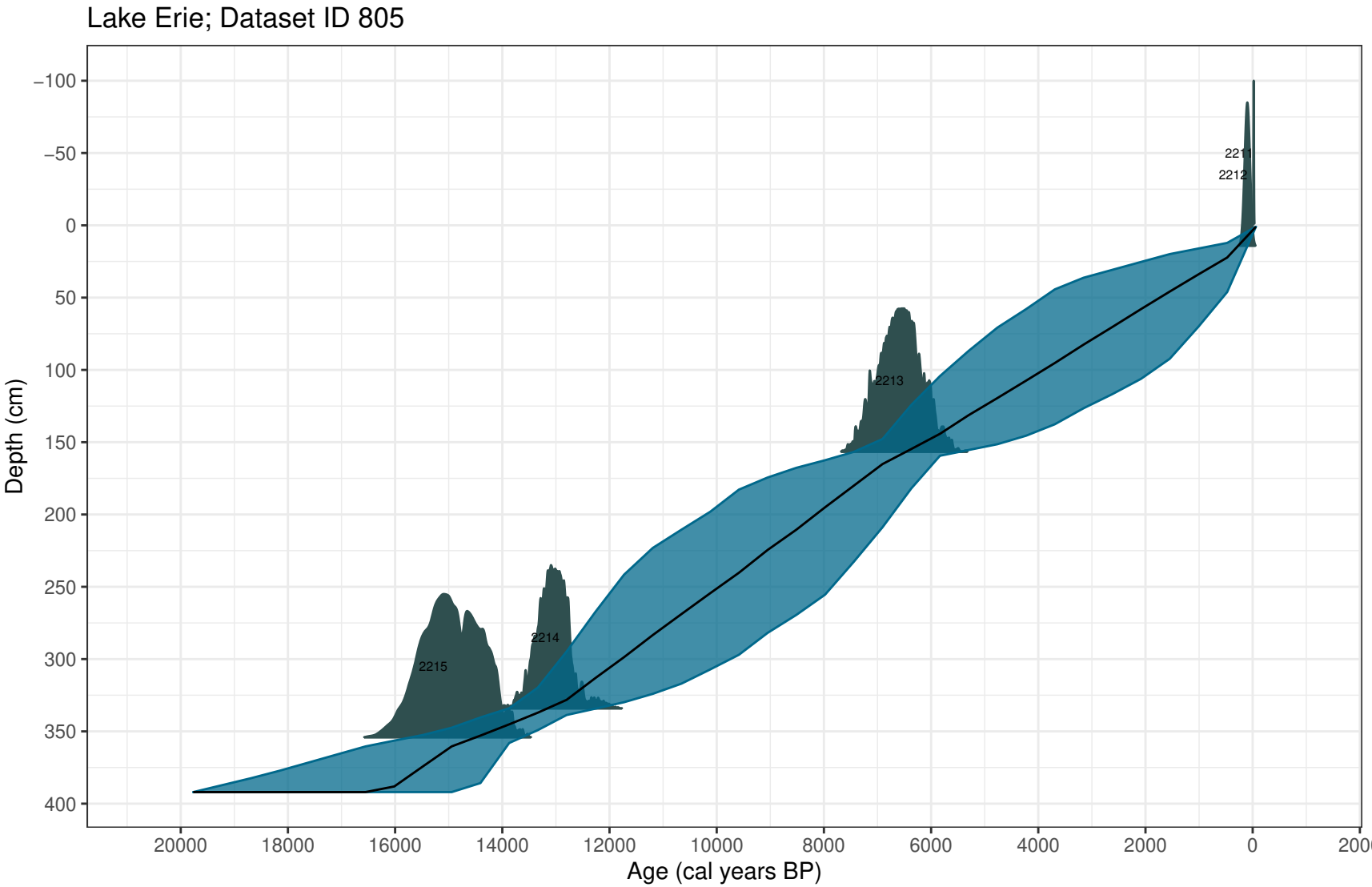
Lake Erie; Dataset ID 805
Depth (cm)
Age (cal years BP)
2211
2212
2213
2214
2215
−100
−50
0
50
100
150
200
250
300
350
400
20000
18000
16000
14000
12000
10000
8000
6000
4000
2000
0

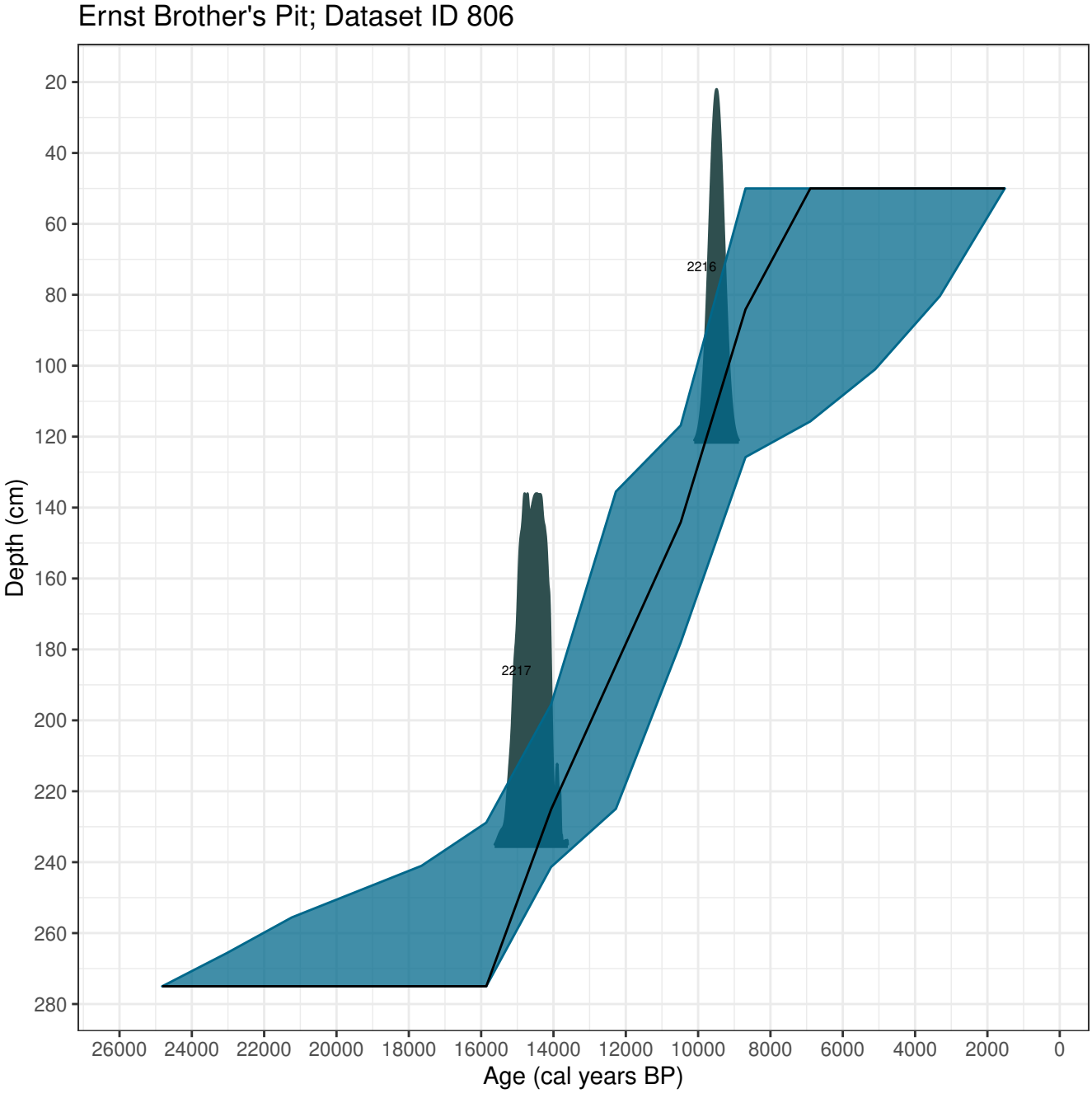
Ernst Brother's Pit; Dataset ID 806
Depth (cm)
20
40
60
80
100
120
140
160
180
200
220
240
260
280
2216
2217
26000
24000
22000
20000
18000
16000
14000
12000
10000
8000
6000
4000
2000
0
Age (cal years BP)

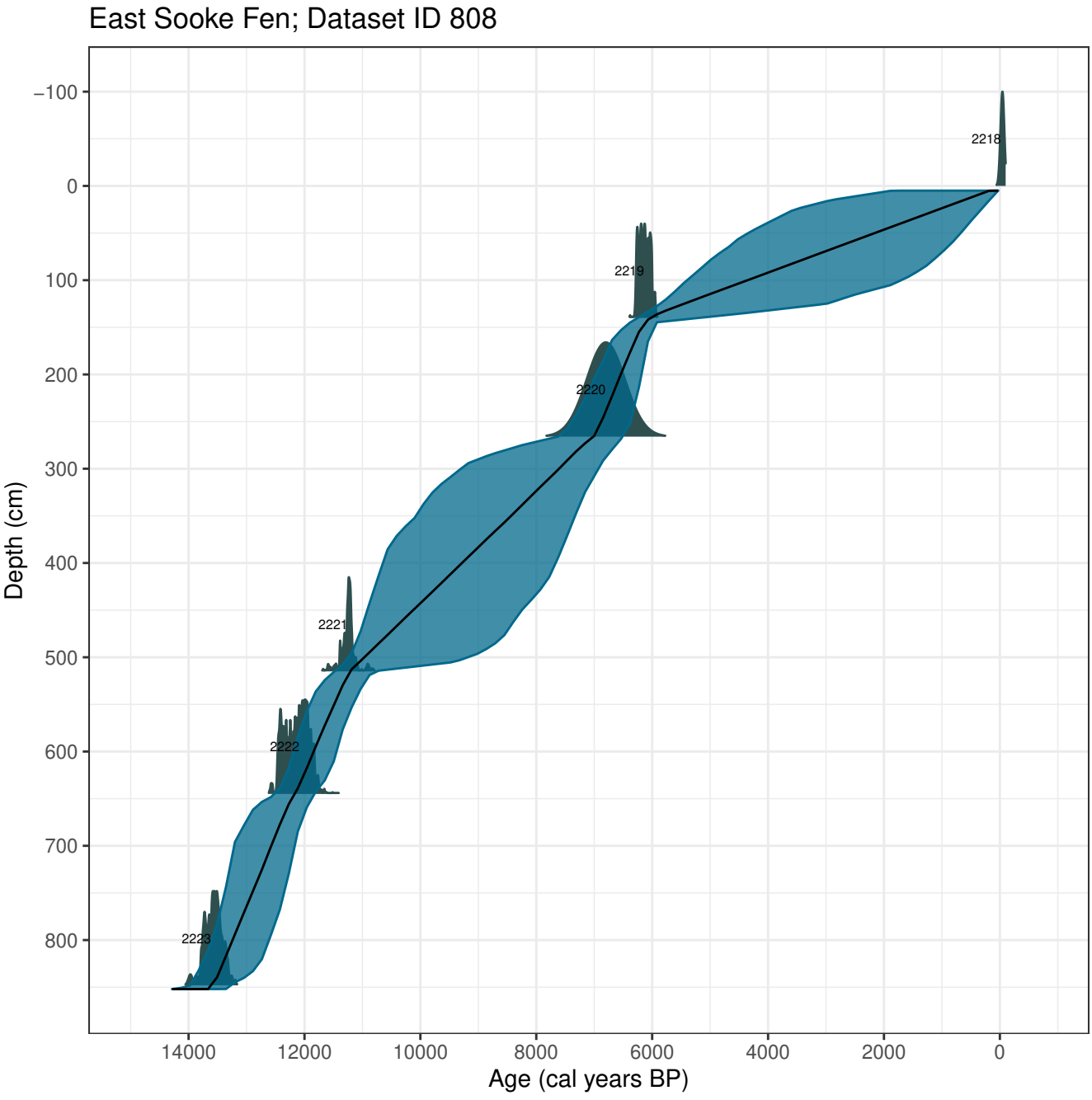
East Sooke Fen; Dataset ID 808
Depth (cm)
−100
0
100
200
300
400
500
600
700
800
2218
2219
2220
2221
2222
2223
14000
12000
10000
8000
6000
4000
2000
0
Age (cal years BP)

Lac à la Fourche; Dataset ID 810

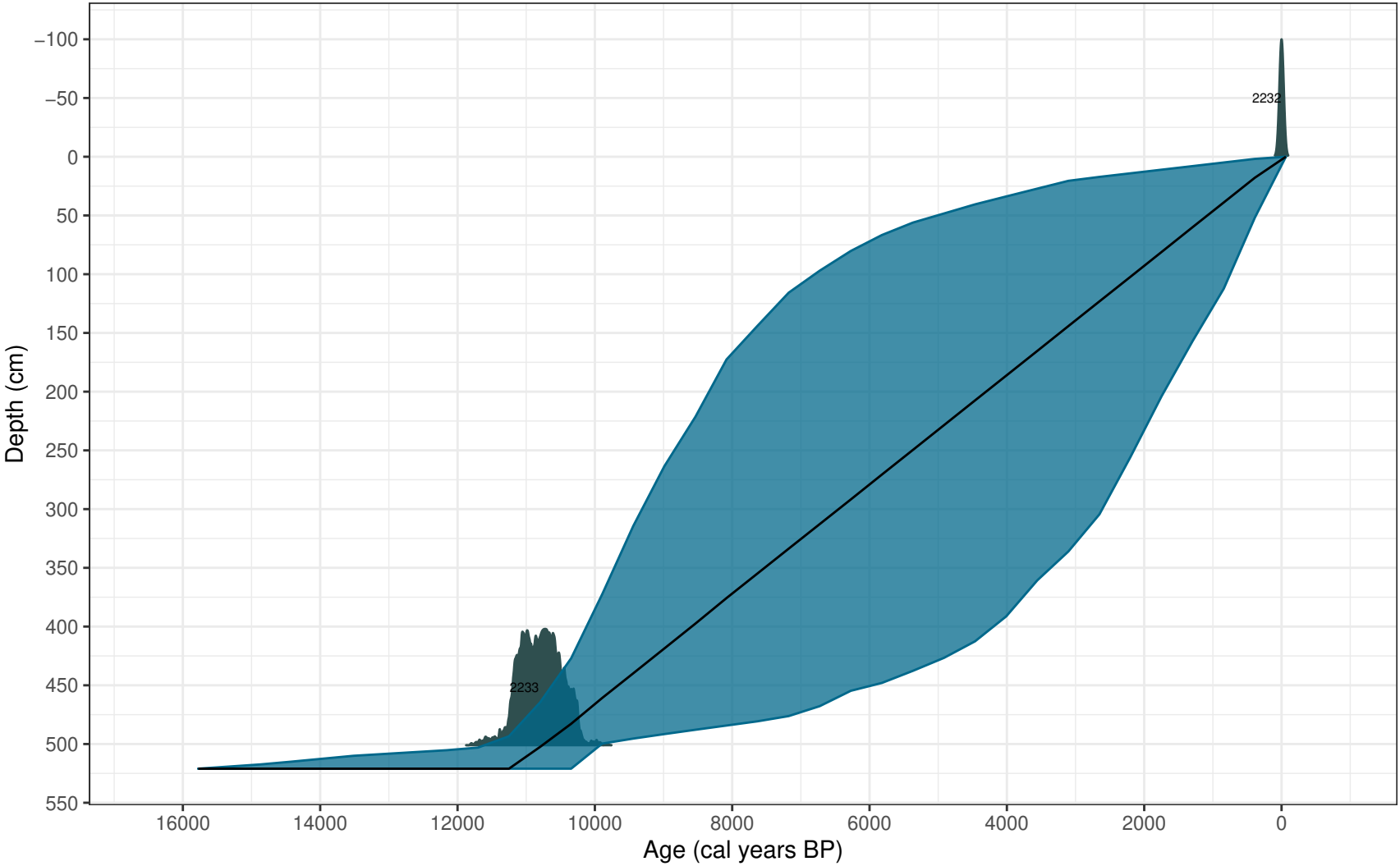

Etivlik Lake; Dataset ID 811

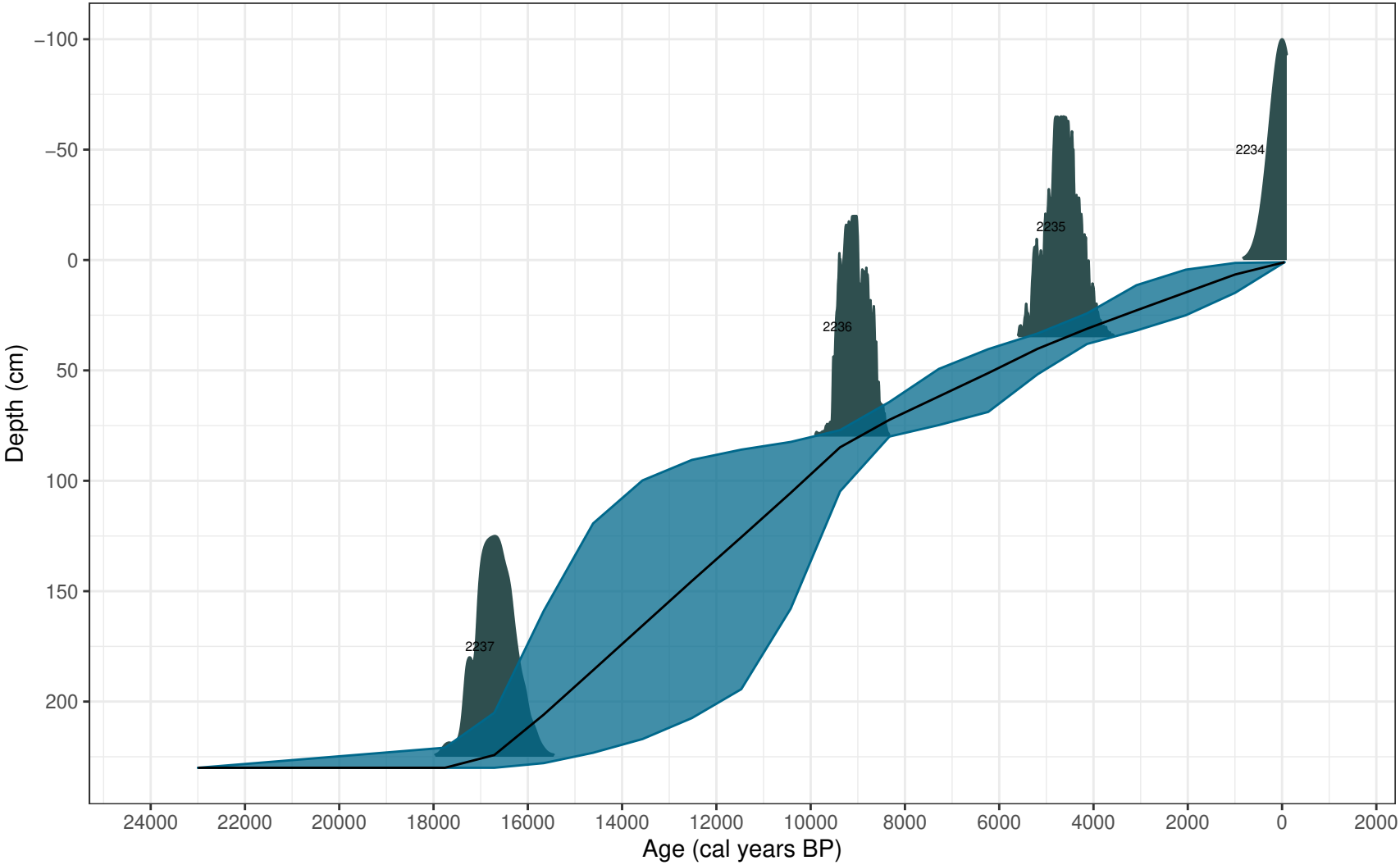

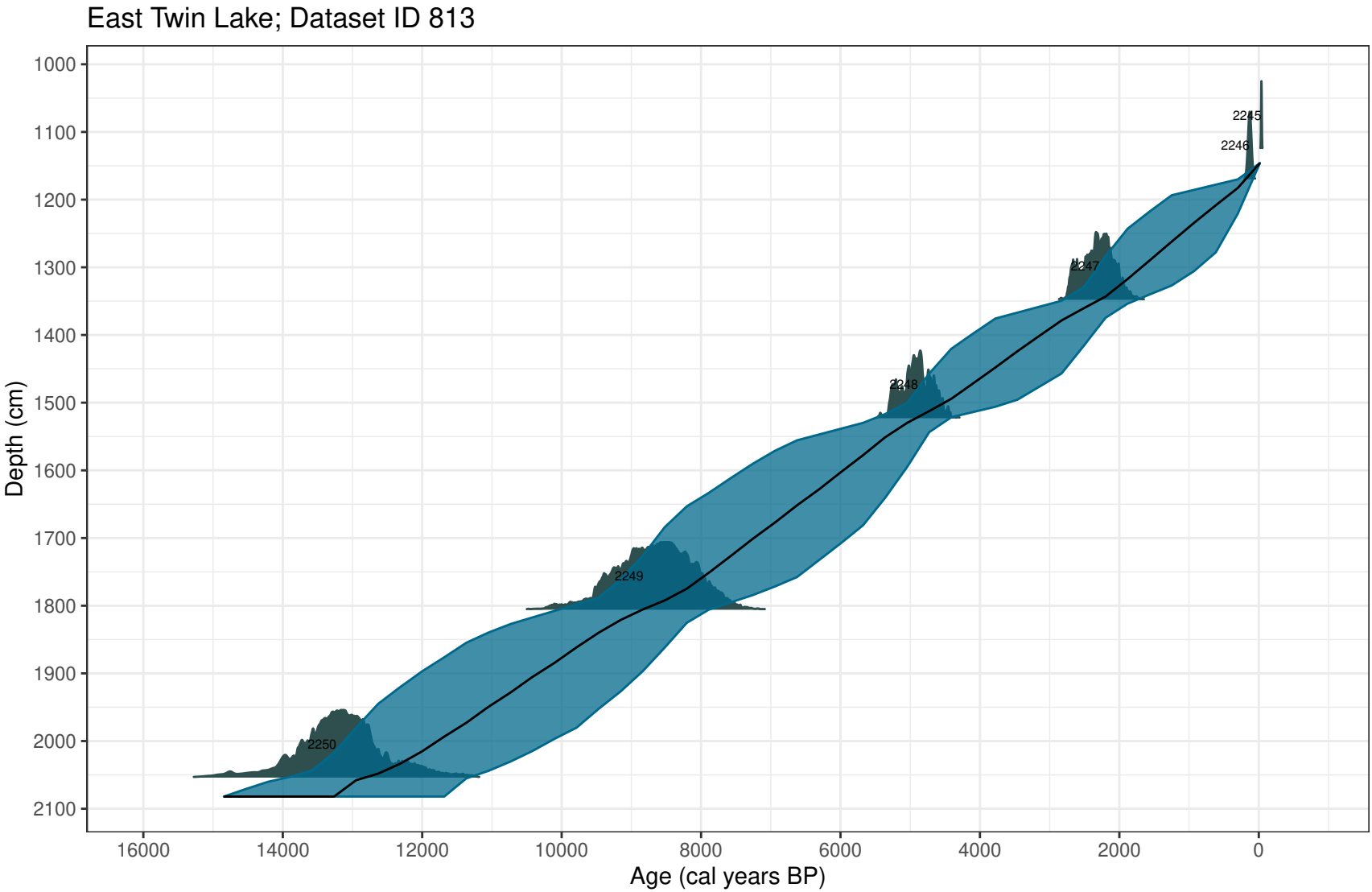
East Twin Lake; Dataset ID 813
Depth (cm)
1000
1100
1200
1300
1400
1500
1600
1700
1800
1900
2000
2100
Age (cal years BP)
16000
14000
12000
10000
8000
6000
4000
2000
0
2245
2246
2247
2248
2249
2250

Excelsior Basin; Dataset ID 815

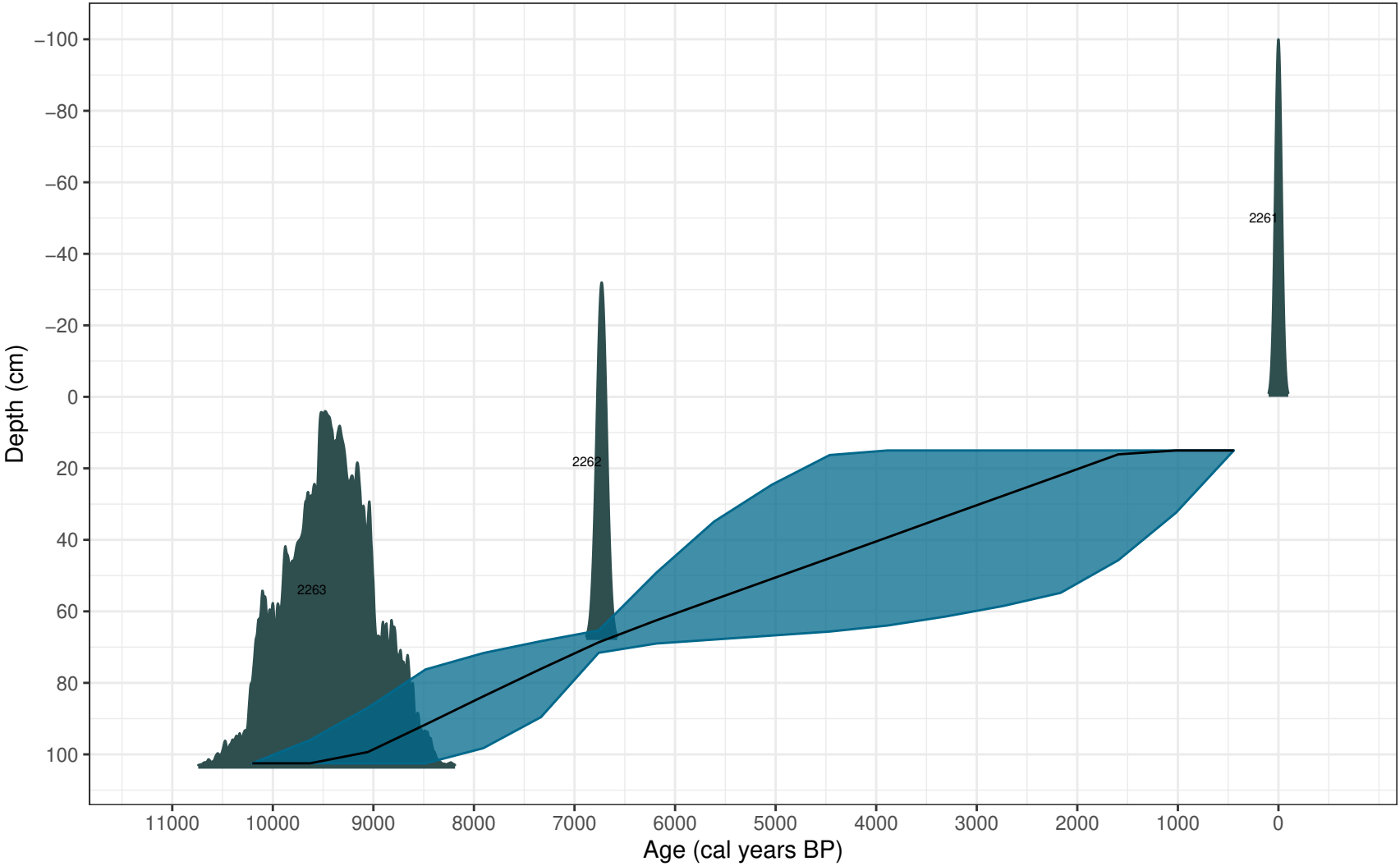

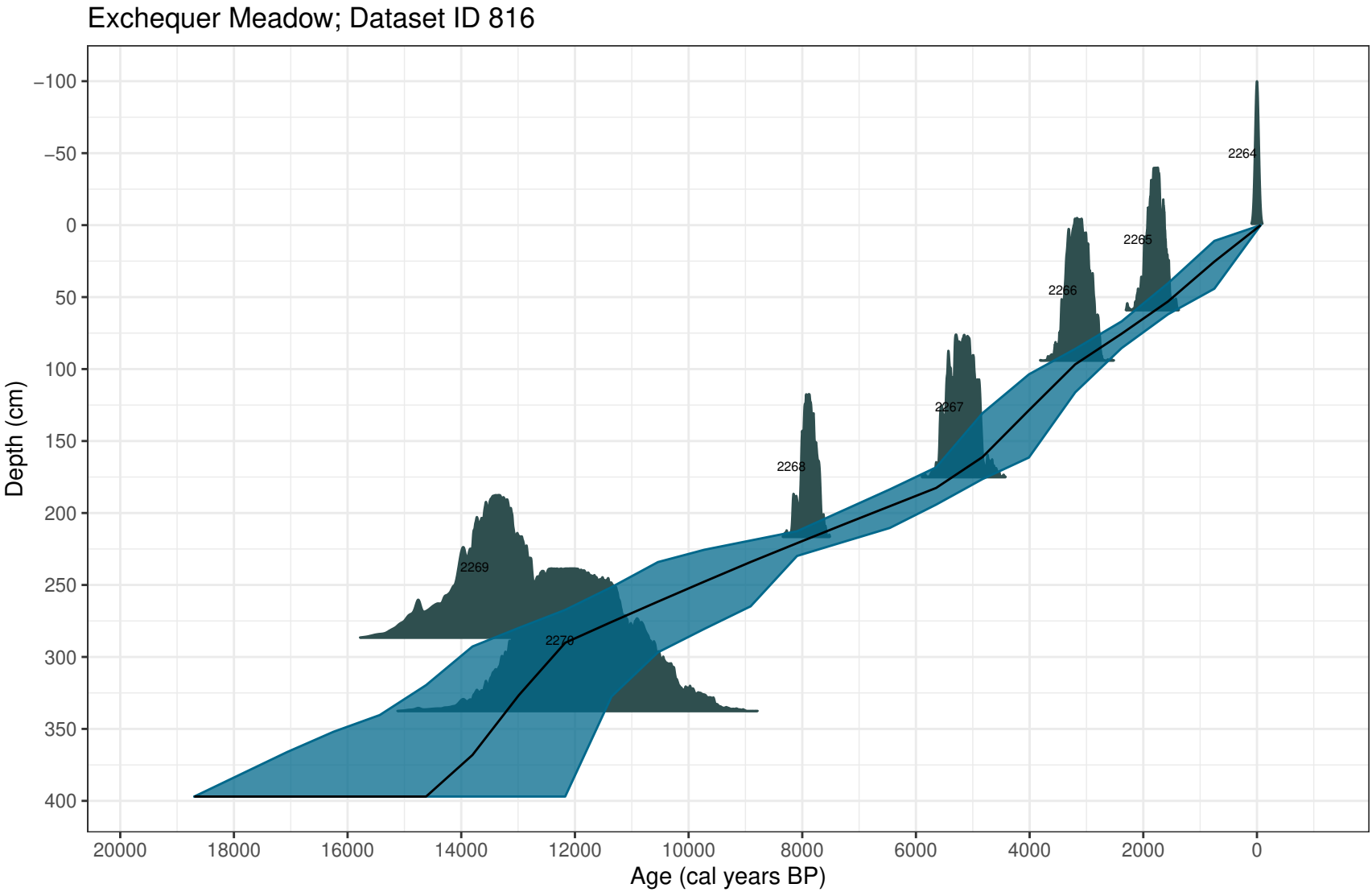
Exchequer Meadow; Dataset ID 816
Depth (cm)
−100
−50
0
50
100
150
200
250
300
350
400
Age (cal years BP)
20000
18000
16000
14000
12000
10000
8000
6000
4000
2000
0
2264
2265
2266
2267
2268
2269
2270

Tourbière de Farnham; Dataset ID 821

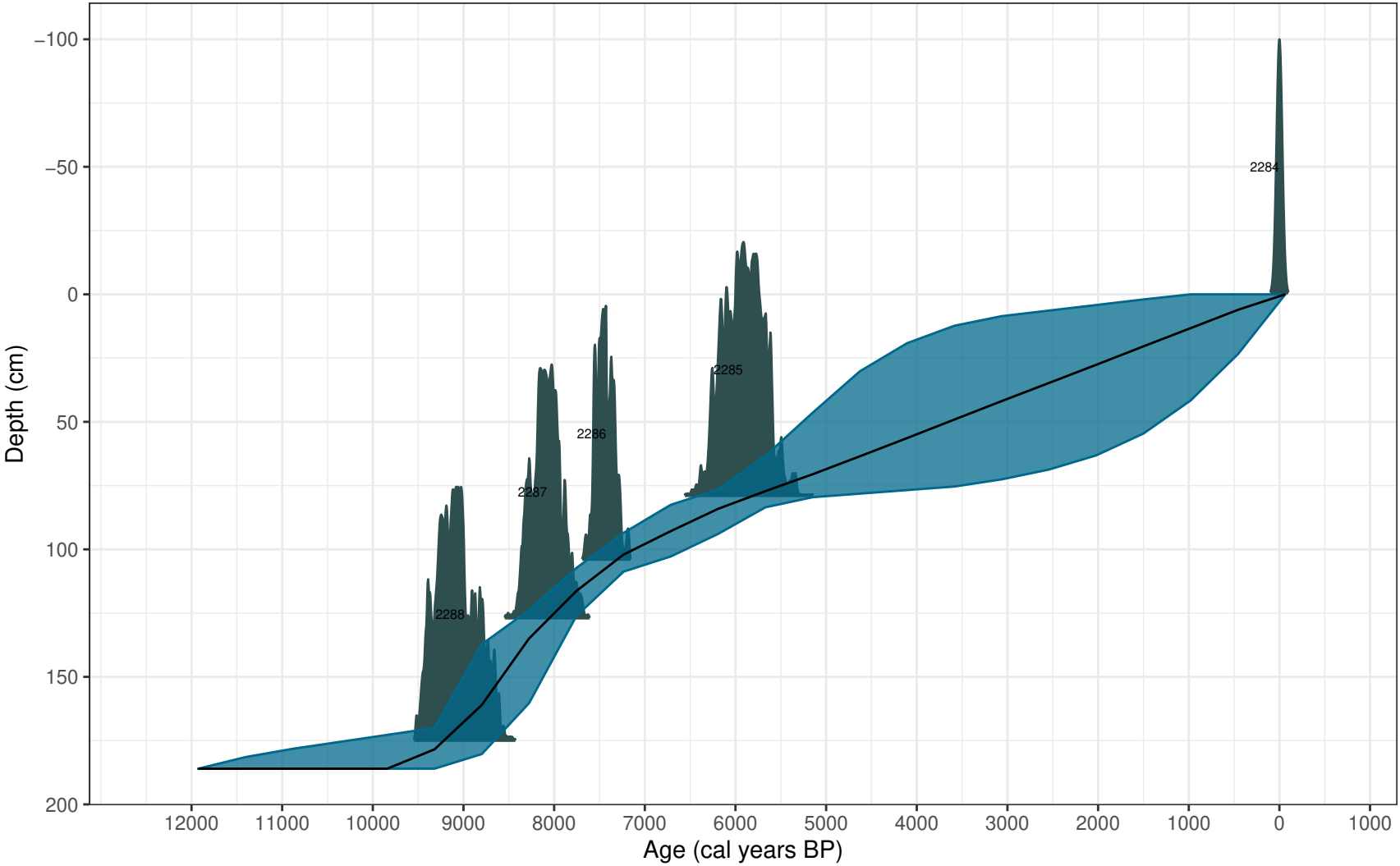

Fawn Lake (CA:Ontario); Dataset ID 823

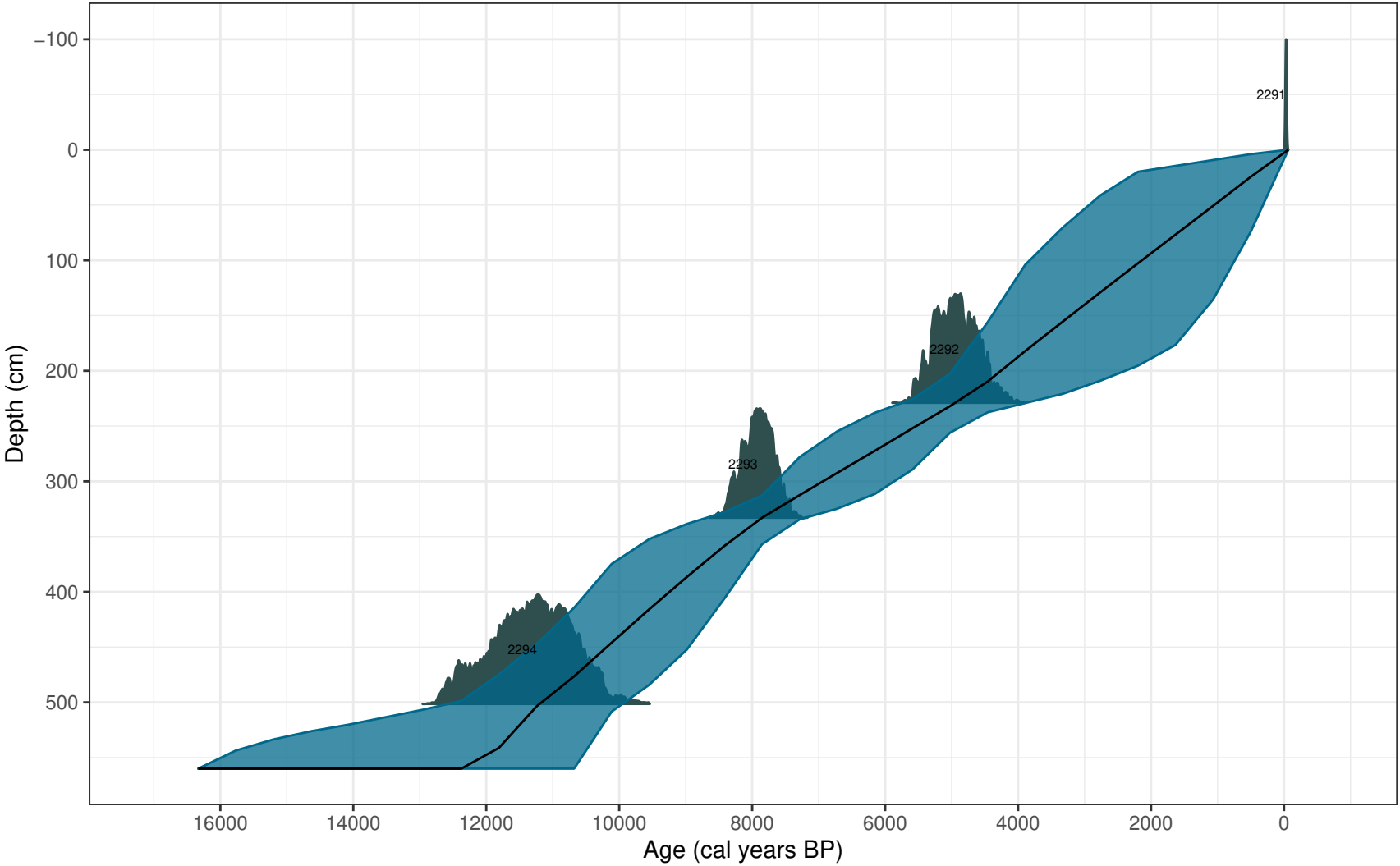

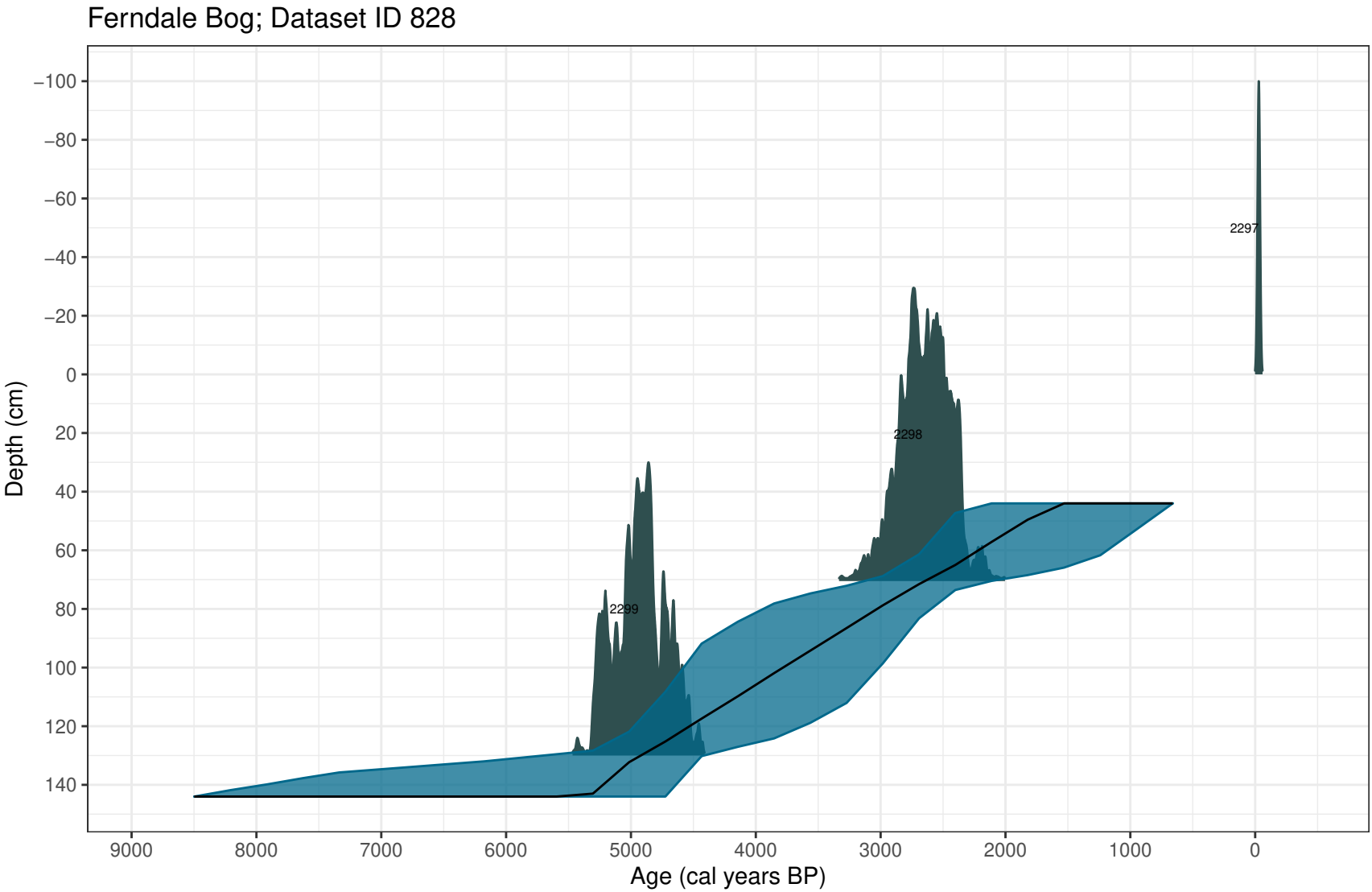
Ferndale Bog; Dataset ID 828
Depth (cm)
−100
−80
−60
−40
−20
0
20
40
60
80
100
120
140
2297
2298
2299
9000
8000
7000
6000
5000
4000
3000
2000
1000
0
Age (cal years BP)

Fiddler's Pond; Dataset ID 829

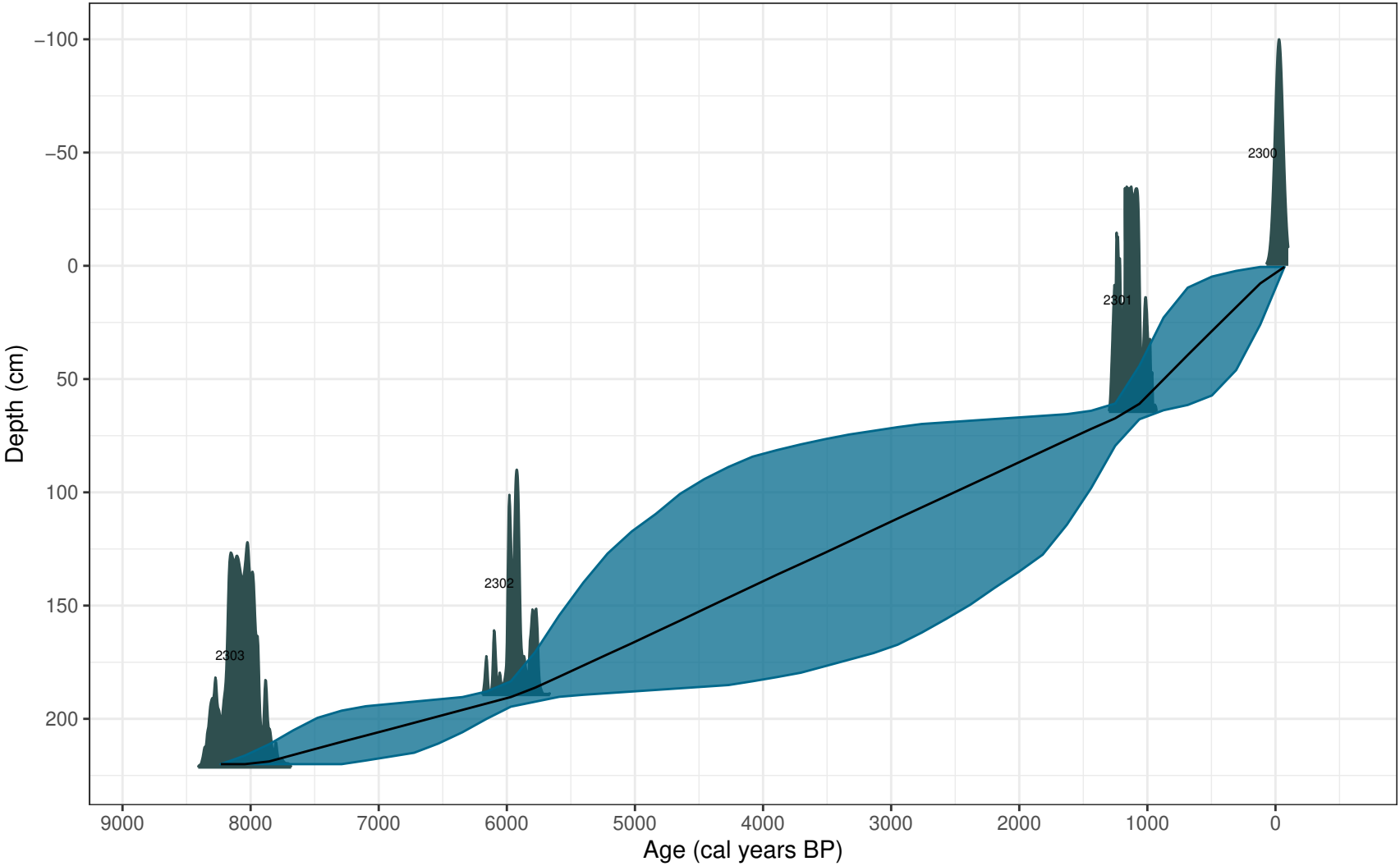

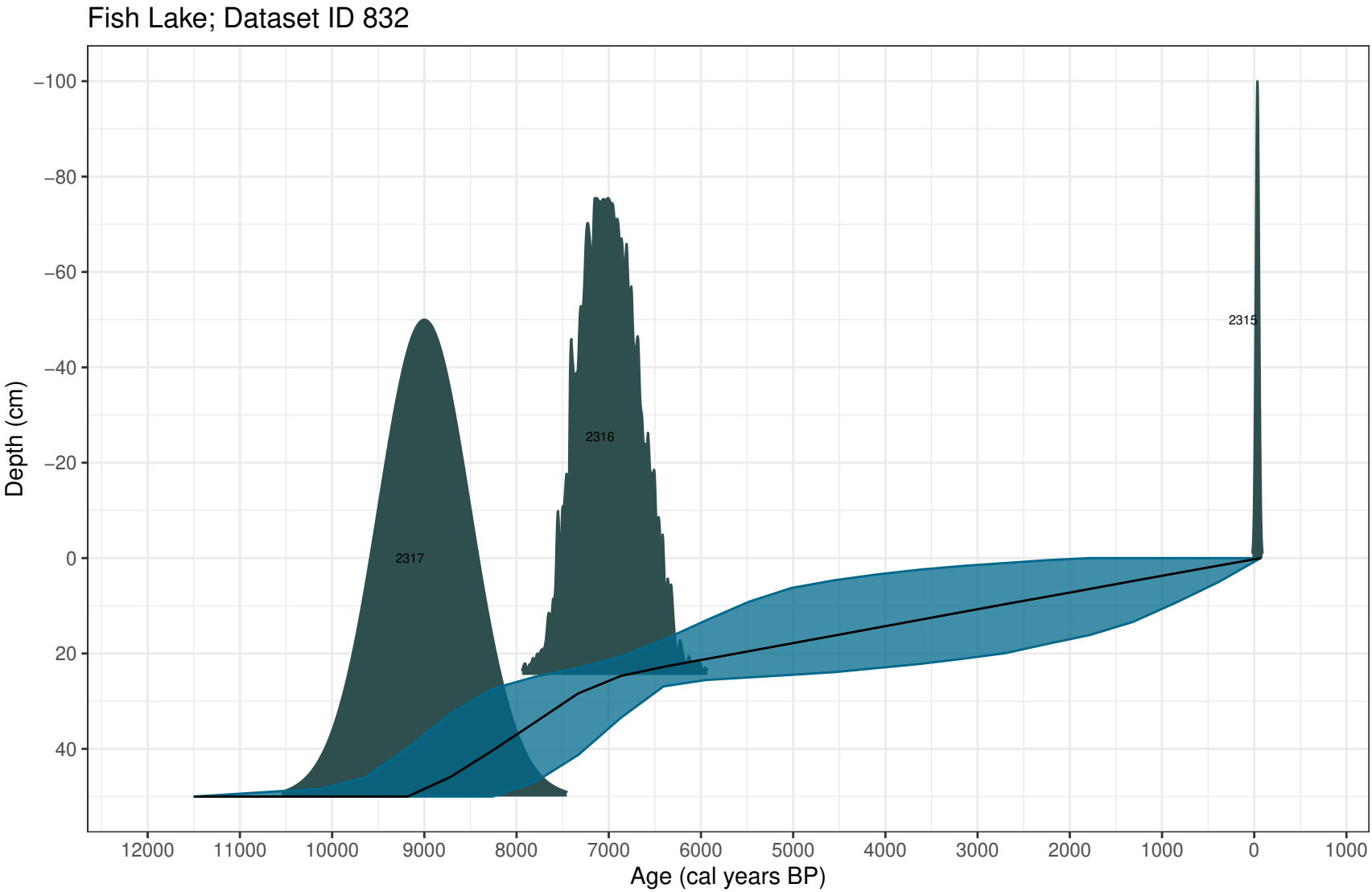
Fish Lake; Dataset ID 832
Depth (cm)
−100
−80
−60
−40
−20
0
20
40
2315
2316
2317
12000
11000
10000
9000
8000
7000
6000
5000
4000
3000
2000
1000
0
1000
Age (cal years BP)

Beaverhouse Lake; Dataset ID 834

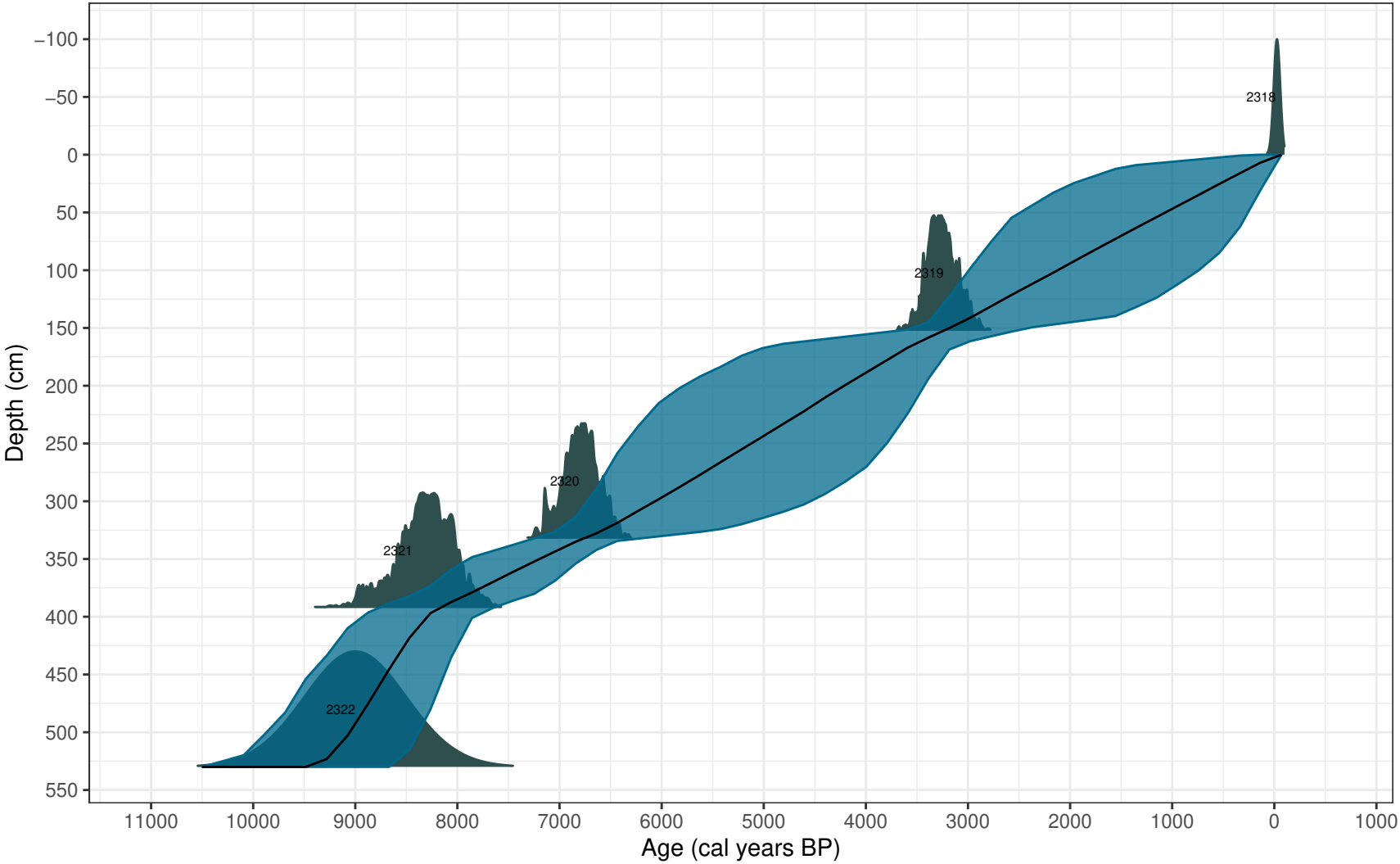

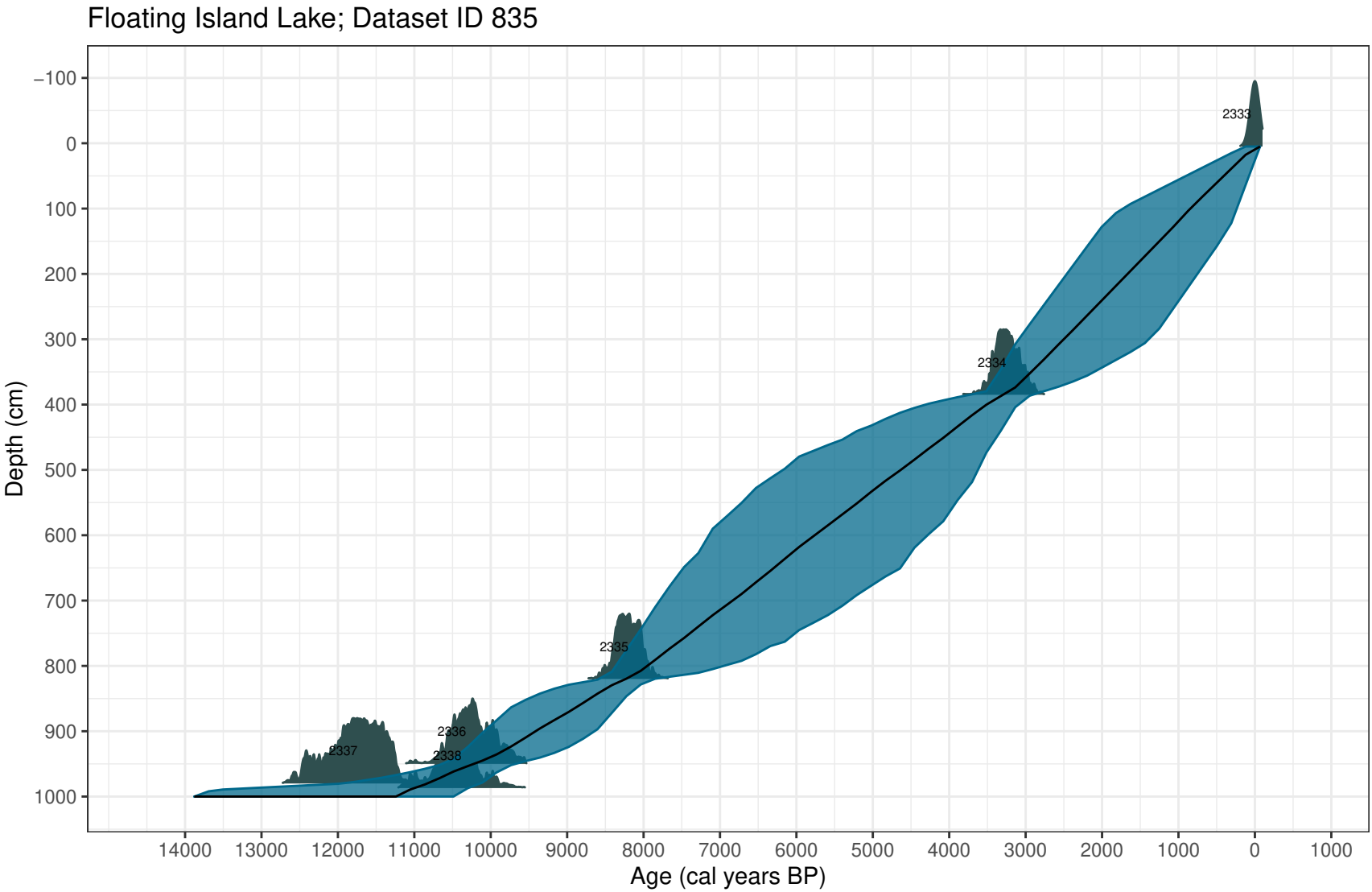
Floating Island Lake; Dataset ID 835
Depth (cm)
−100
0
100
200
300
400
500
600
700
800
900
1000
Age (cal years BP)
14000
13000
12000
11000
10000
9000
8000
7000
6000
5000
4000
3000
2000
1000
0
1000
2333
2334
2335
2336
2337
2338

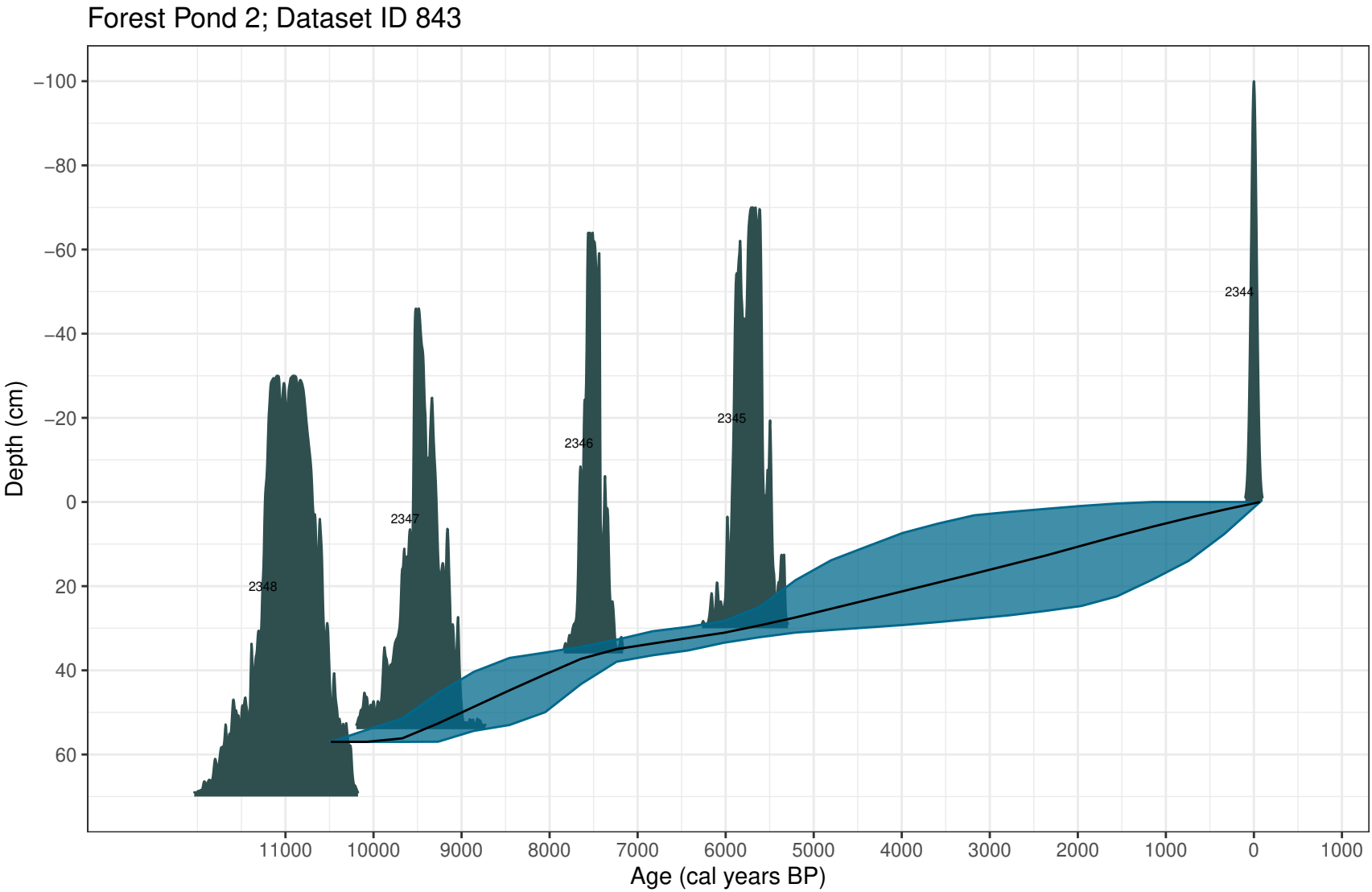
Forest Pond 2; Dataset ID 843
Depth (cm)
−100
−80
−60
−40
−20
0
20
40
60
2348
2347
2346
2345
2344
11000
10000
9000
8000
7000
6000
5000
4000
3000
2000
1000
0
1000
Age (cal years BP)

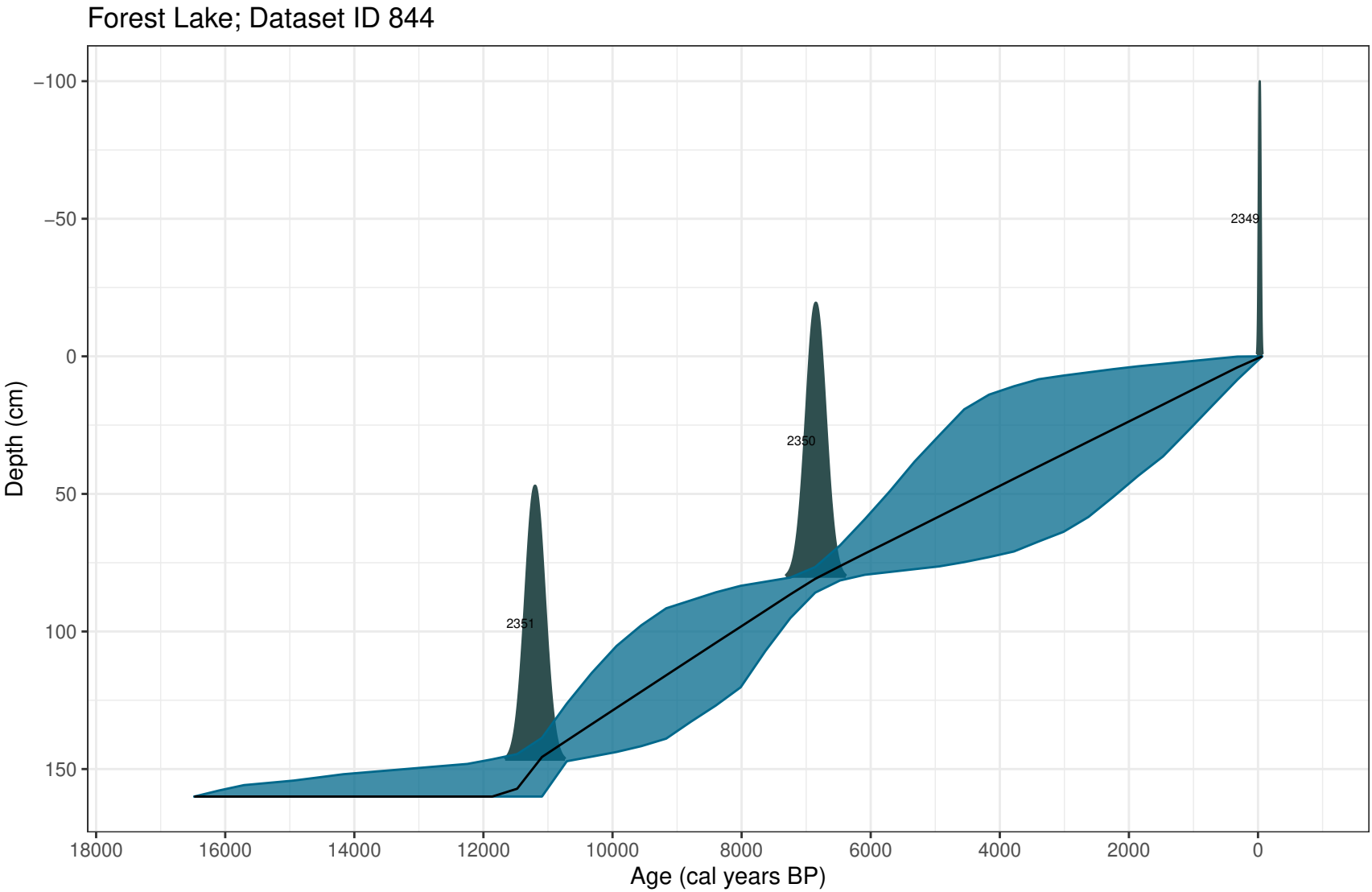
Forest Lake; Dataset ID 844
Depth (cm)
−100
−50
0
50
100
150
2349
2350
2351
18000
16000
14000
12000
10000
8000
6000
4000
2000
0
Age (cal years BP)

Hayes Lake; Dataset ID 849

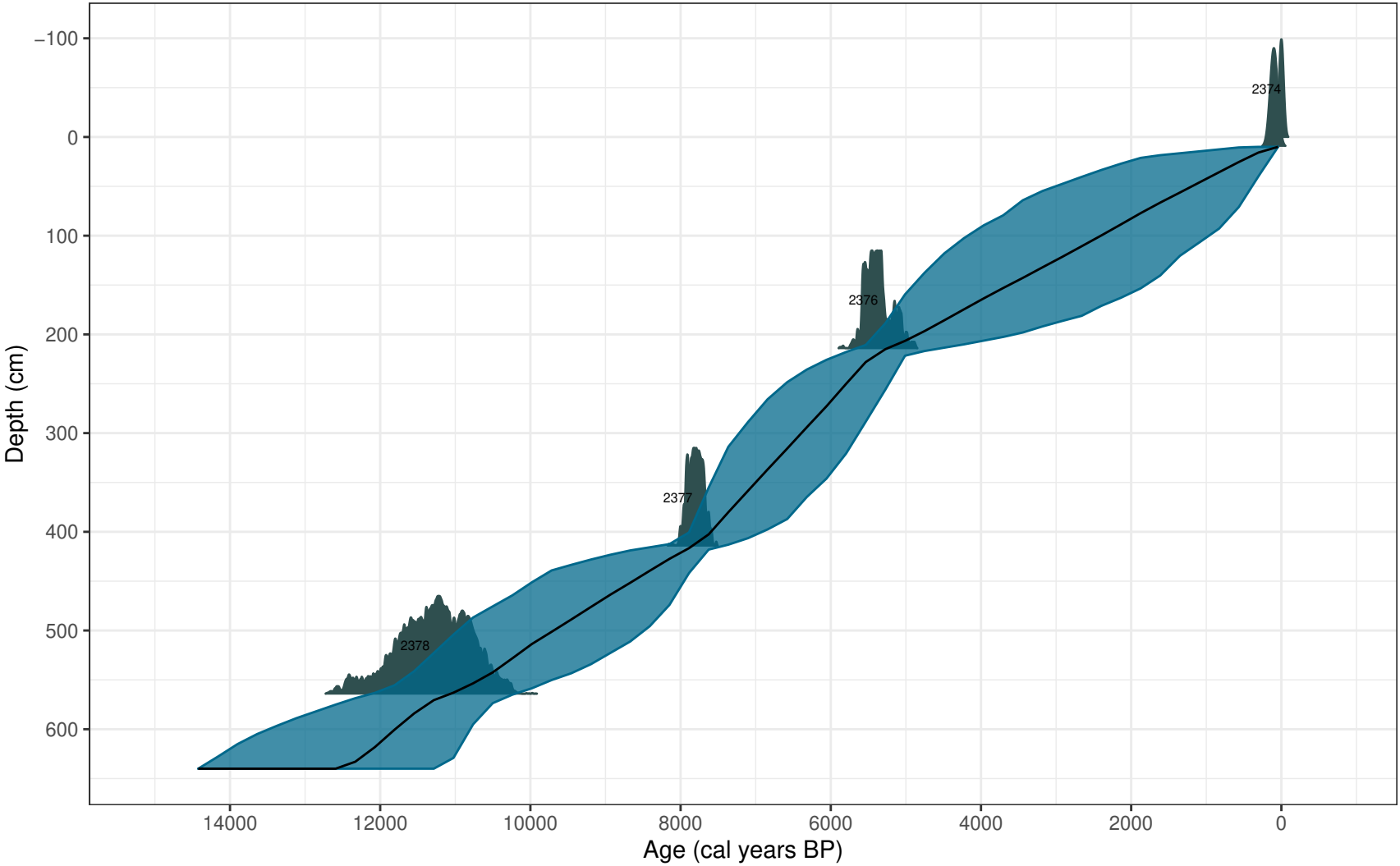

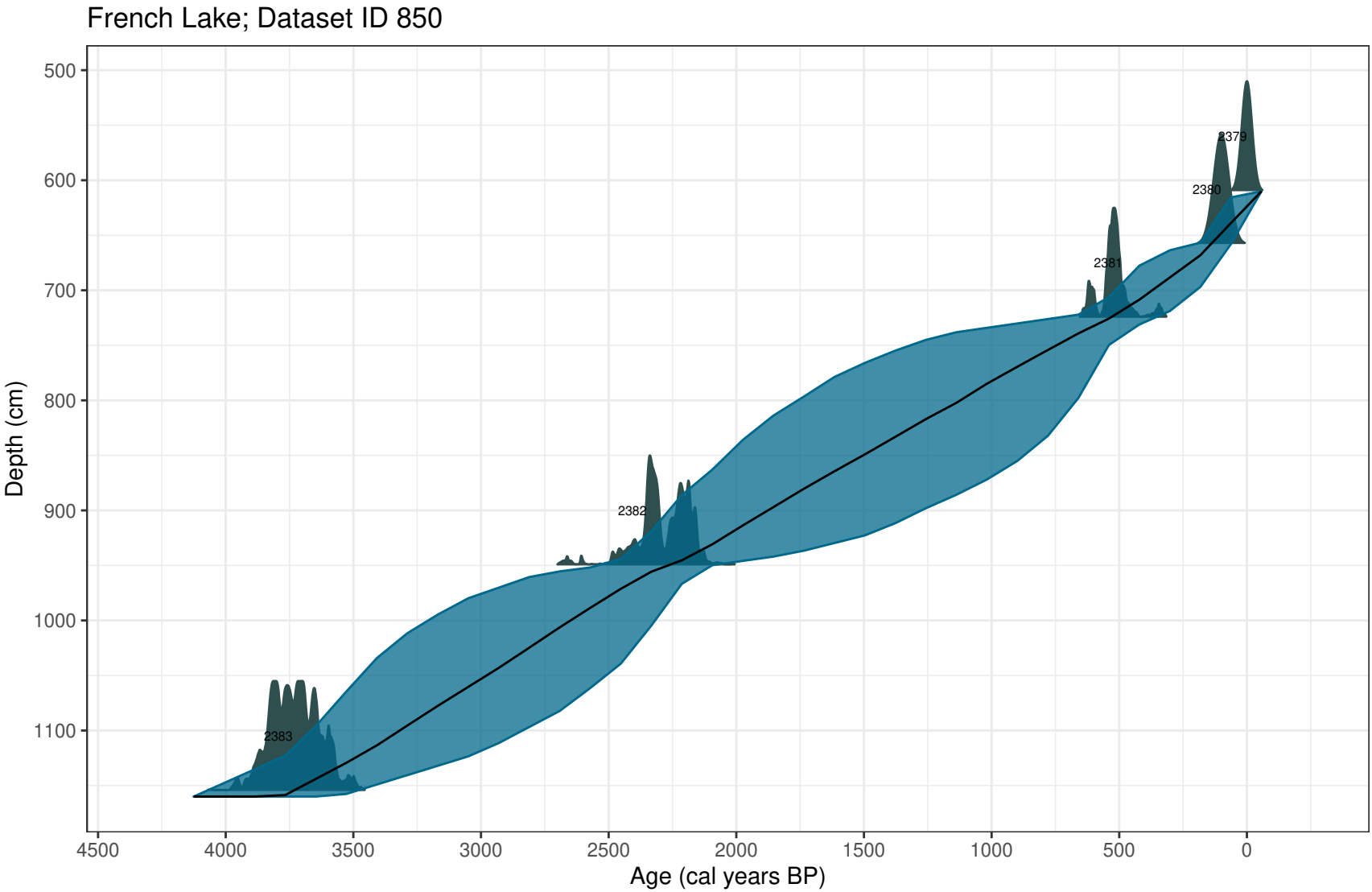
French Lake; Dataset ID 850
Depth (cm)
500
600
700
800
900
1000
1100
Age (cal years BP)
4500
4000
3500
3000
2500
2000
1500
1000
500
0
2379
2380
2381
2382
2383

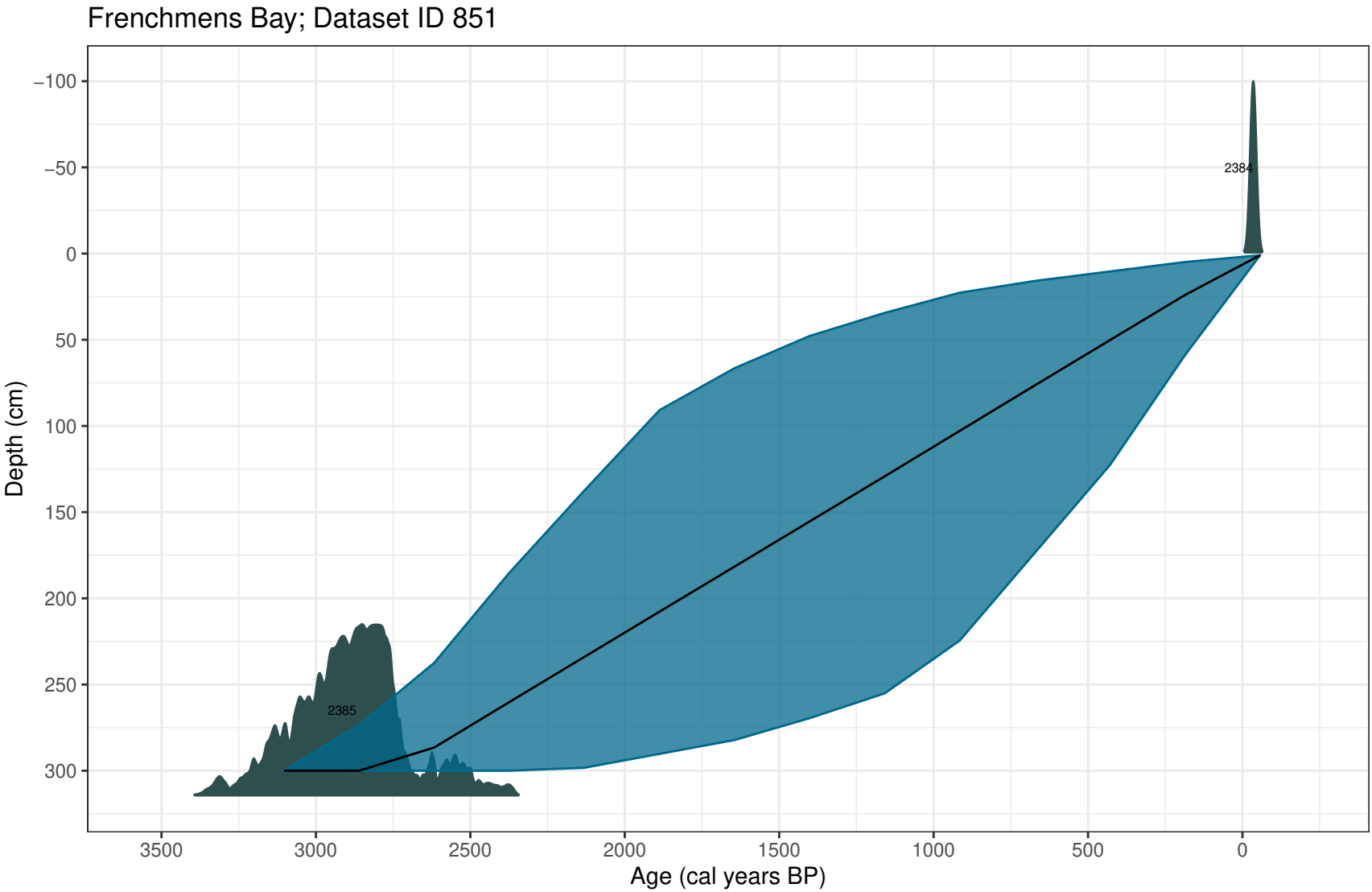
Frenchmens Bay; Dataset ID 851
Depth (cm)
−100
−50
0
50
100
150
200
250
300
2384
2385
3500
3000
2500
2000
1500
1000
500
0
Age (cal years BP)

Fresh Pond; Dataset ID 852

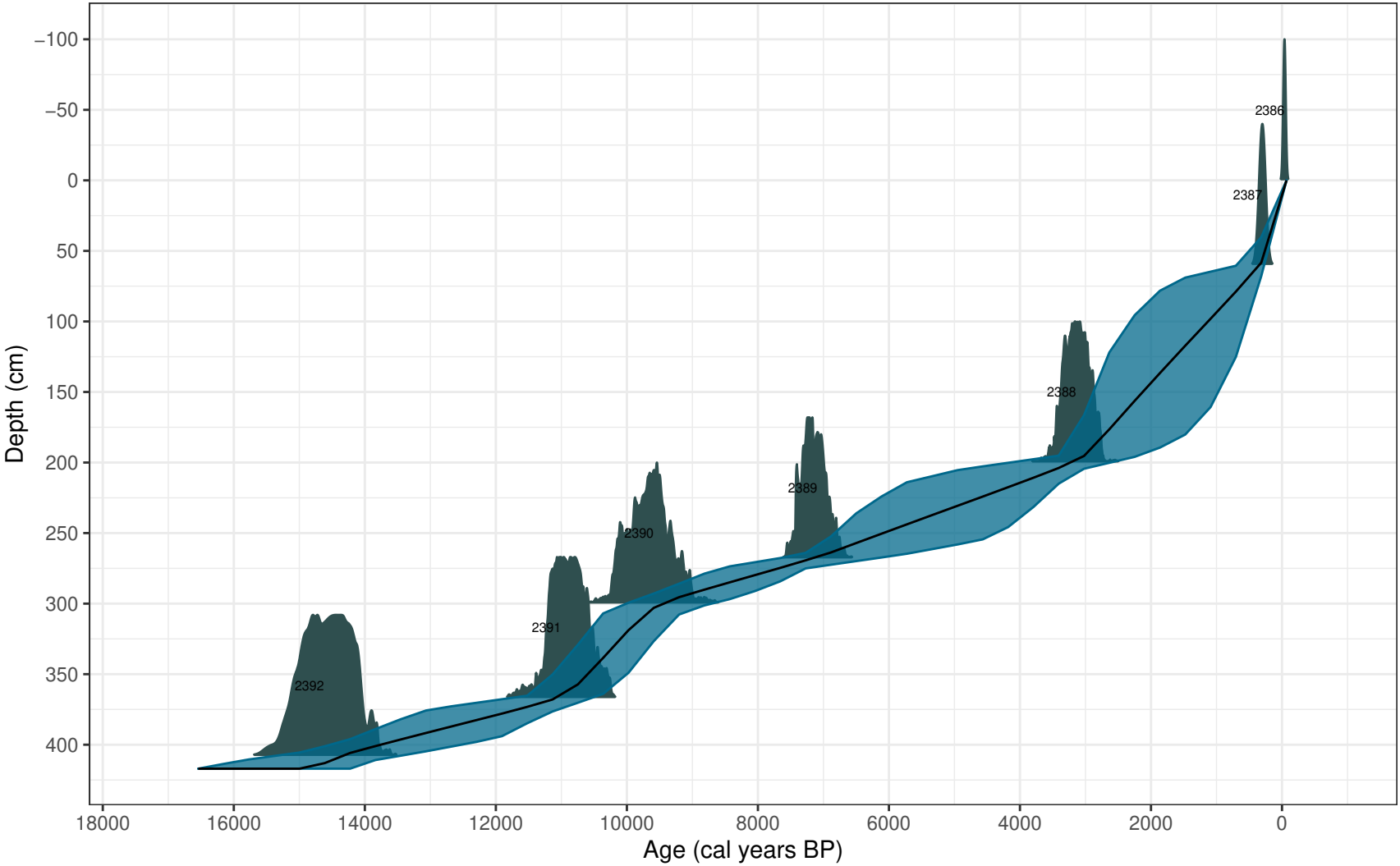

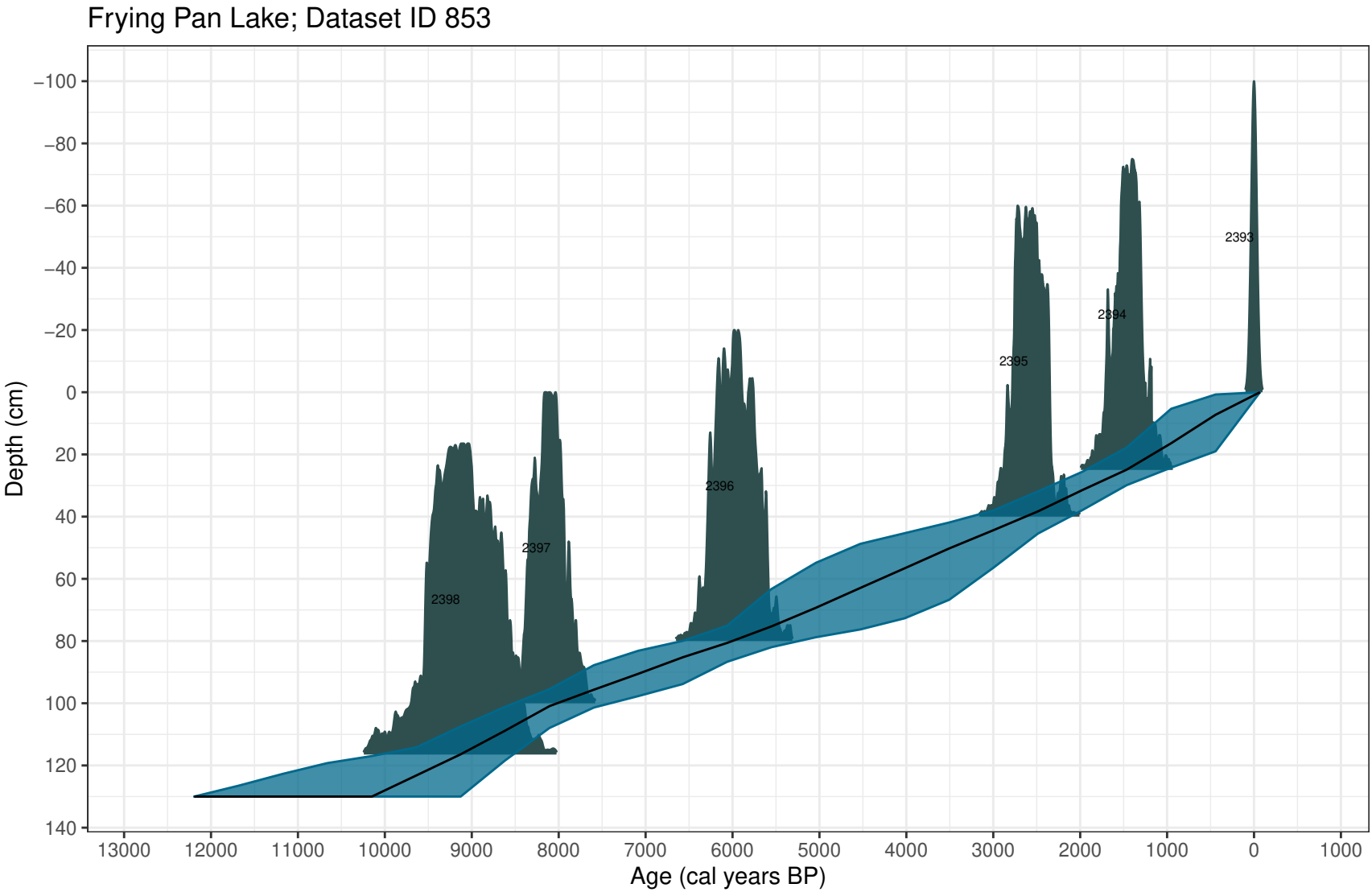
Frying Pan Lake; Dataset ID 853
Depth (cm)
−100
−80
−60
−40
−20
0
20
40
60
80
100
120
140
13000
12000
11000
10000
9000
8000
7000
6000
5000
4000
3000
2000
1000
0
1000
Age (cal years BP)
2398
2397
2396
2395
2394
2393

Fudger Lake; Dataset ID 855

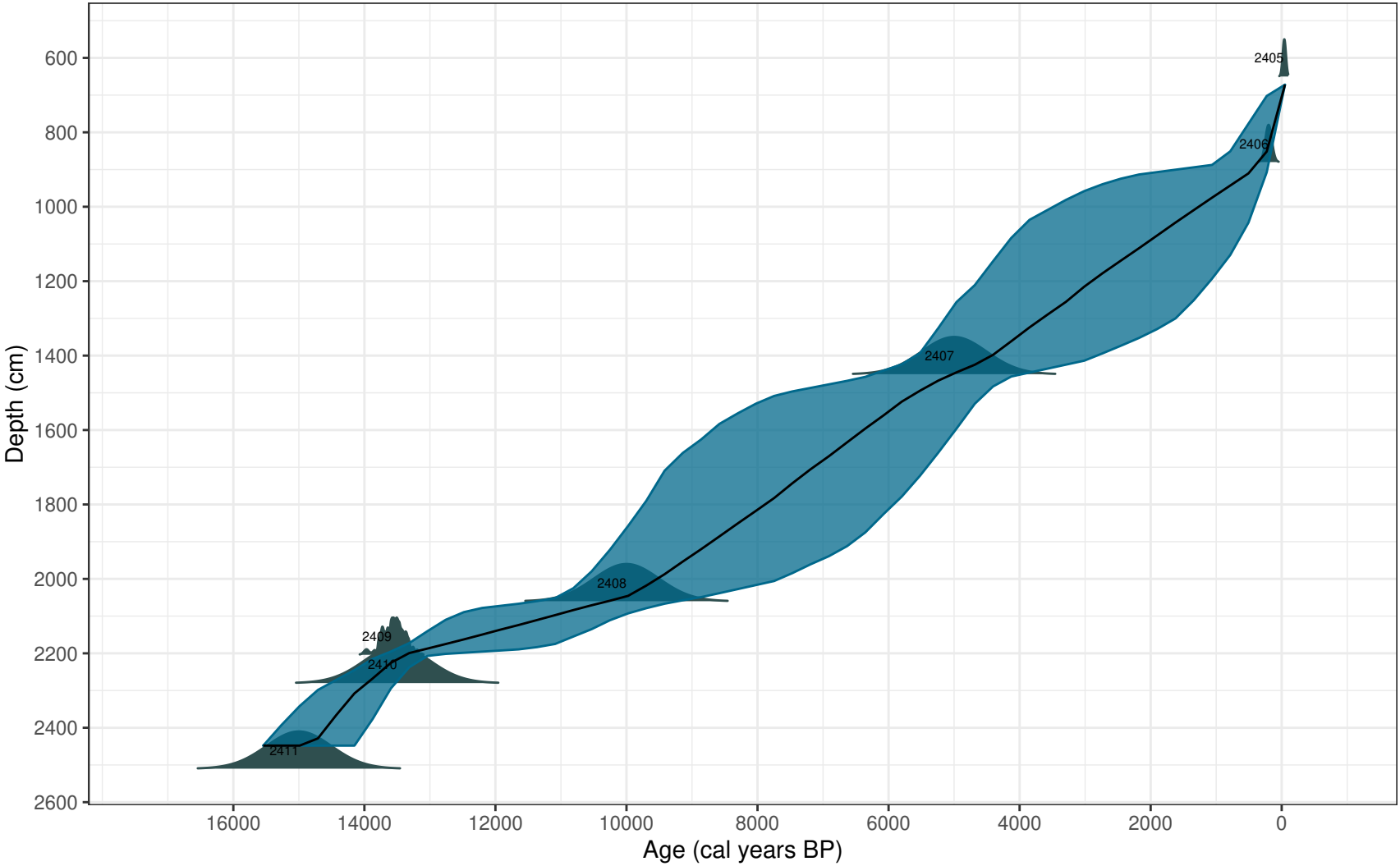

Furnival Lake; Dataset ID 856

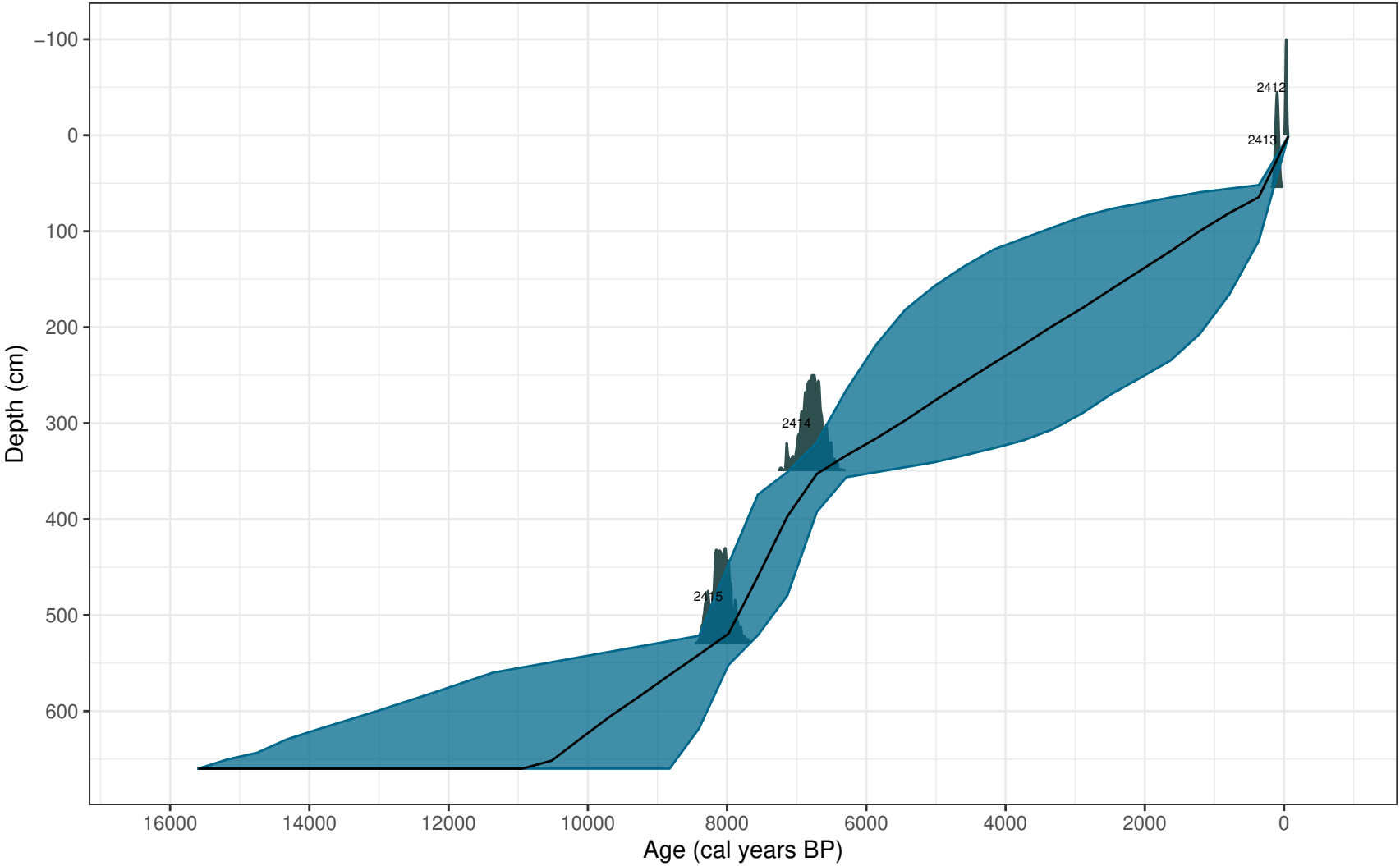

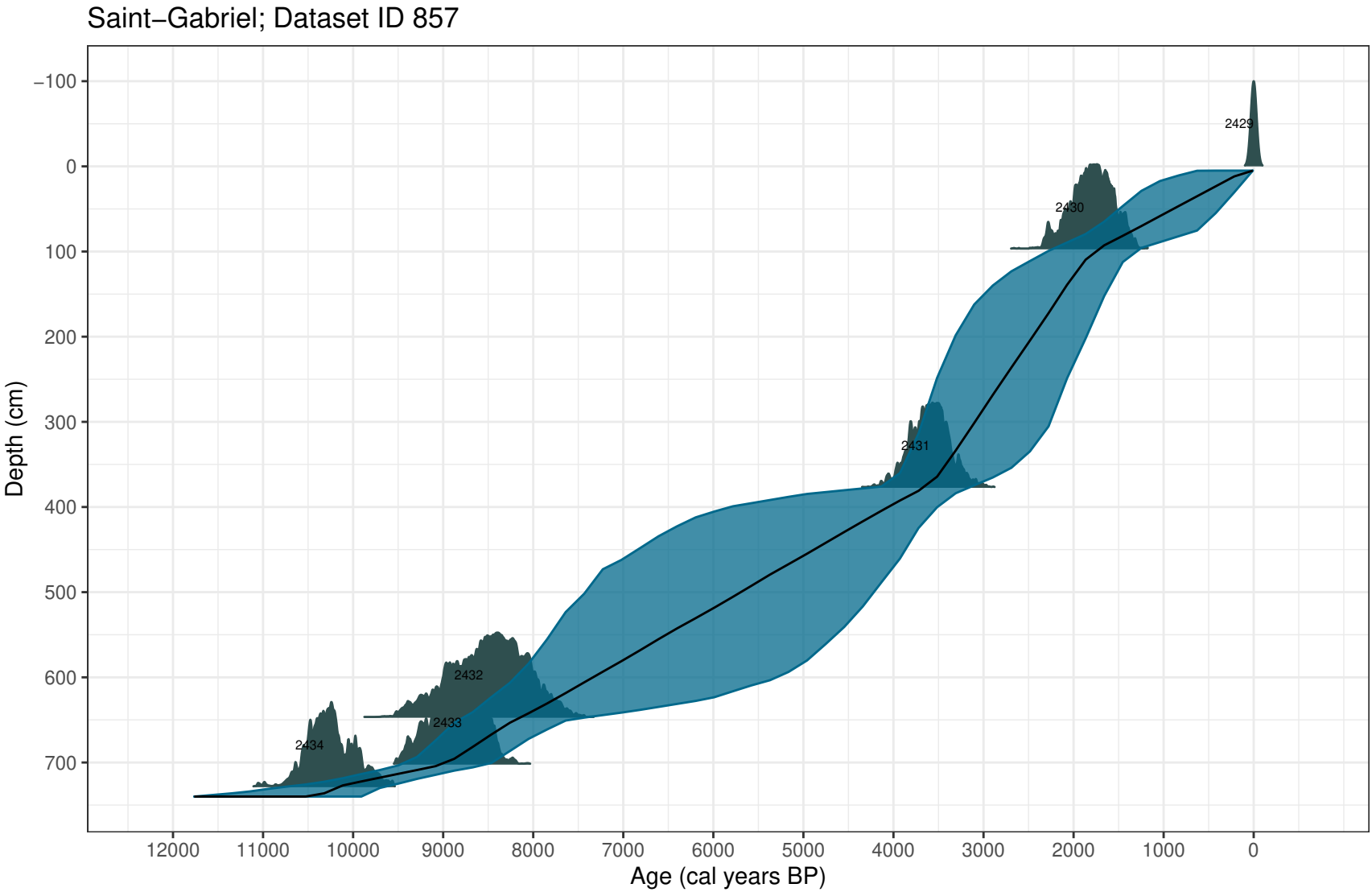
Saint−Gabriel; Dataset ID 857
Depth (cm)
−100
0
100
200
300
400
500
600
700
2429
2430
2431
2432
2433
2434
12000
11000
10000
9000
8000
7000
6000
5000
4000
3000
2000
1000
0
Age (cal years BP)

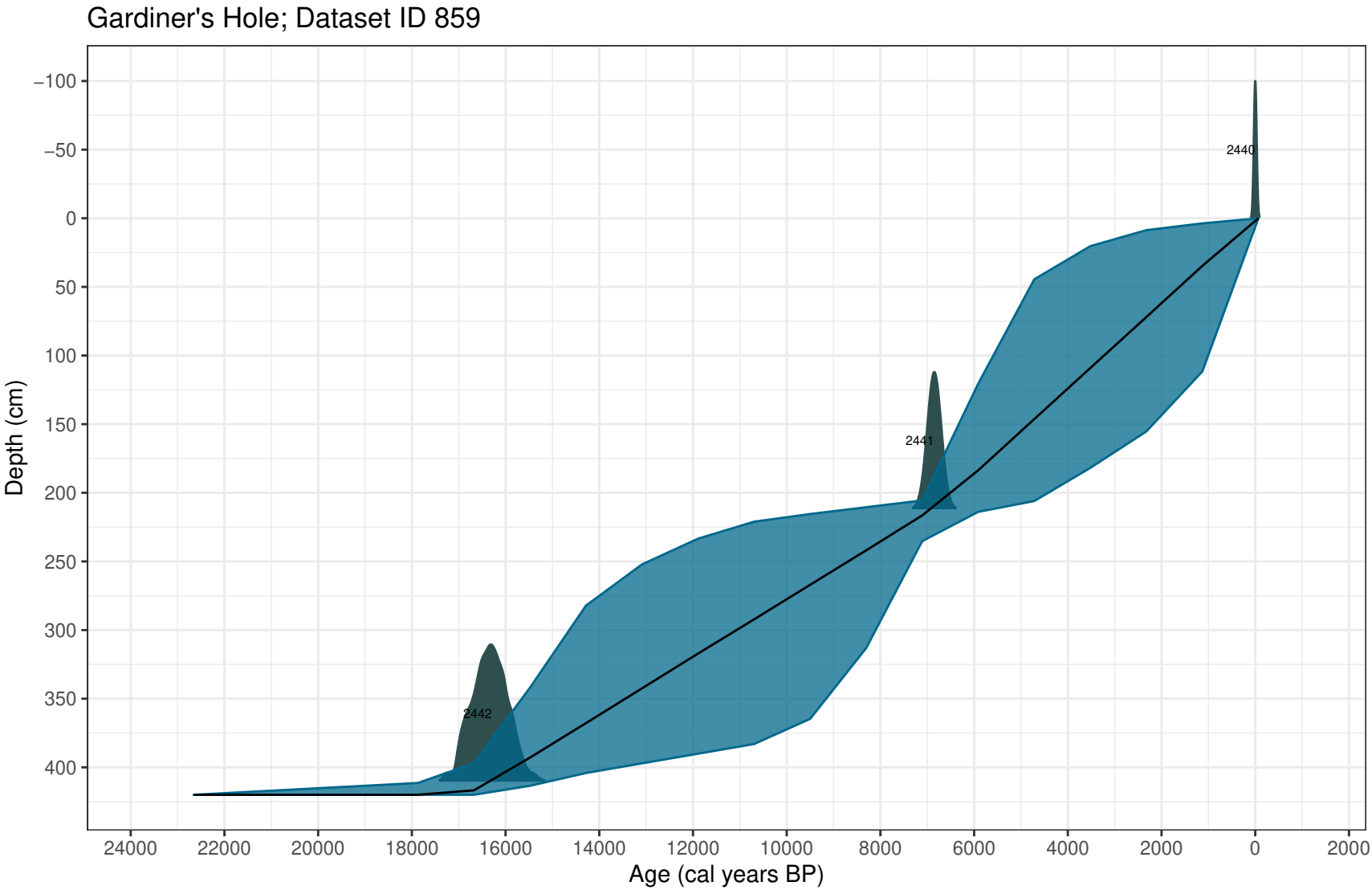
Gardiner's Hole; Dataset ID 859
Depth (cm)
−100
−50
0
50
100
150
200
250
300
350
400
2440
2441
2442
24000
22000
20000
18000
16000
14000
12000
10000
8000
6000
4000
2000
0
2000
Age (cal years BP)

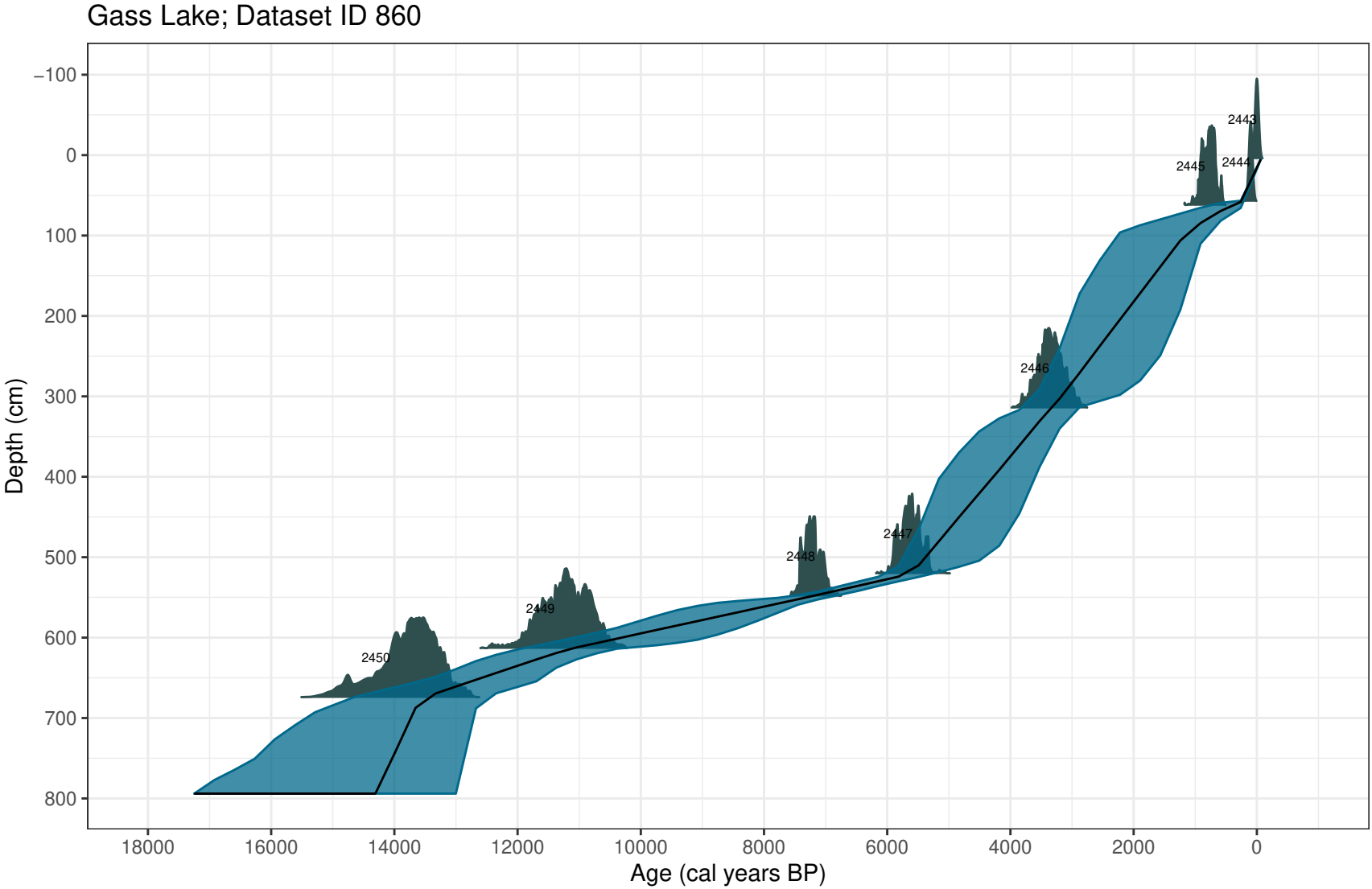
Gass Lake; Dataset ID 860
Depth (cm)
−100
0
100
200
300
400
500
600
700
800
Age (cal years BP)
18000
16000
14000
12000
10000
8000
6000
4000
2000
0
2450
2449
2448
2447
2446
2445
2444
2443

Georgian Bay, Lake Huron (1); Dataset ID 862

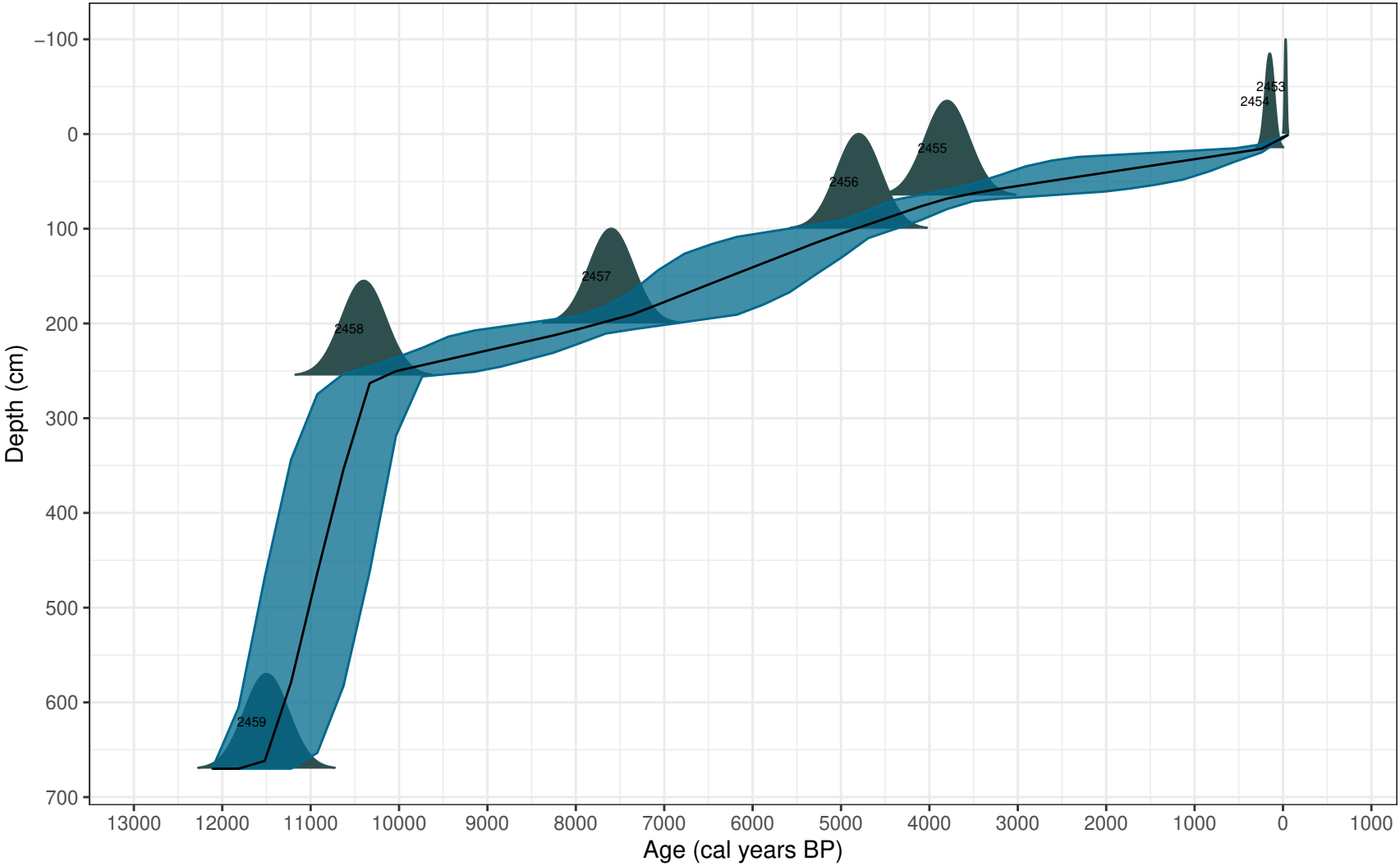

Georgian Bay, Lake Huron (2); Dataset ID 863

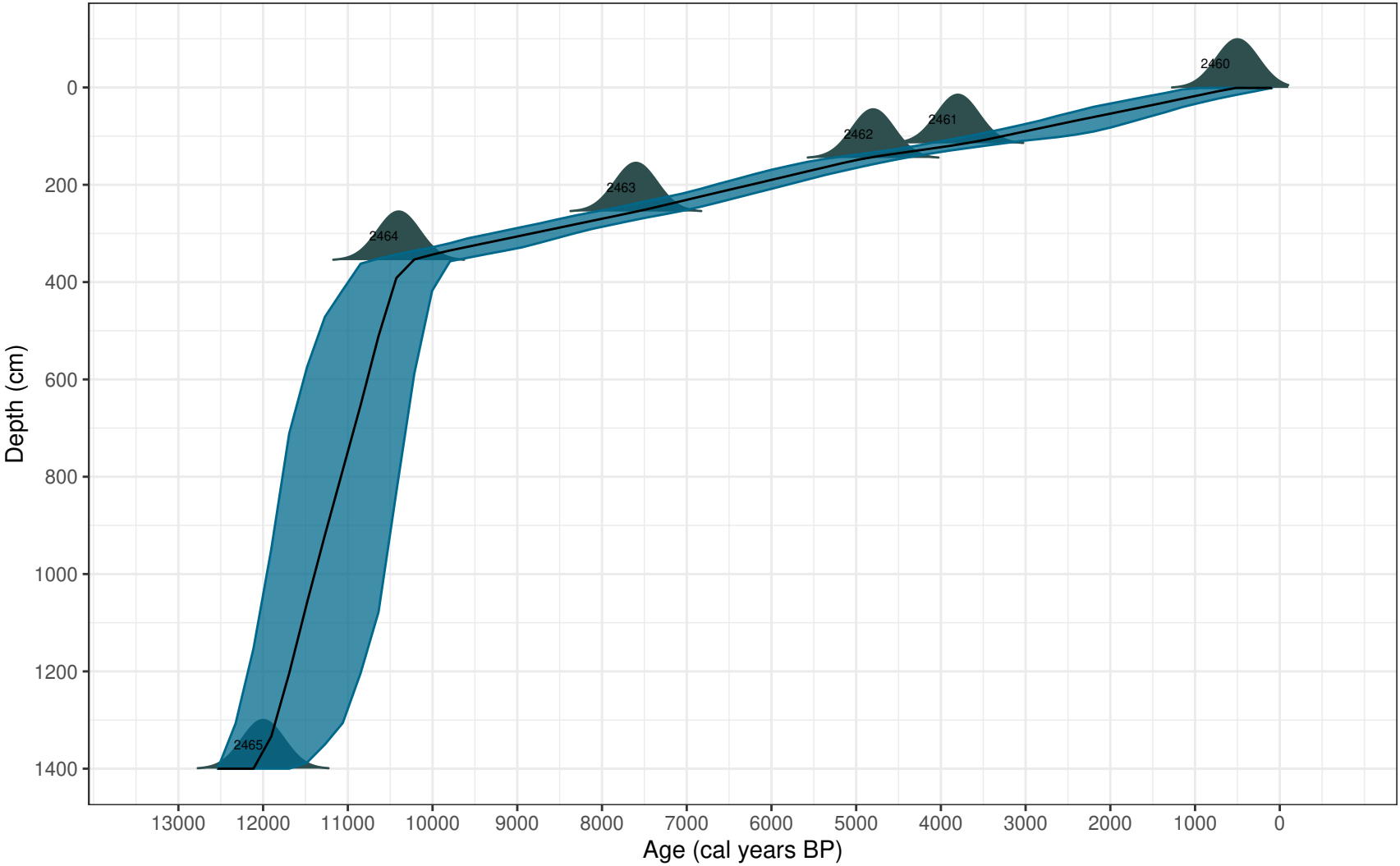

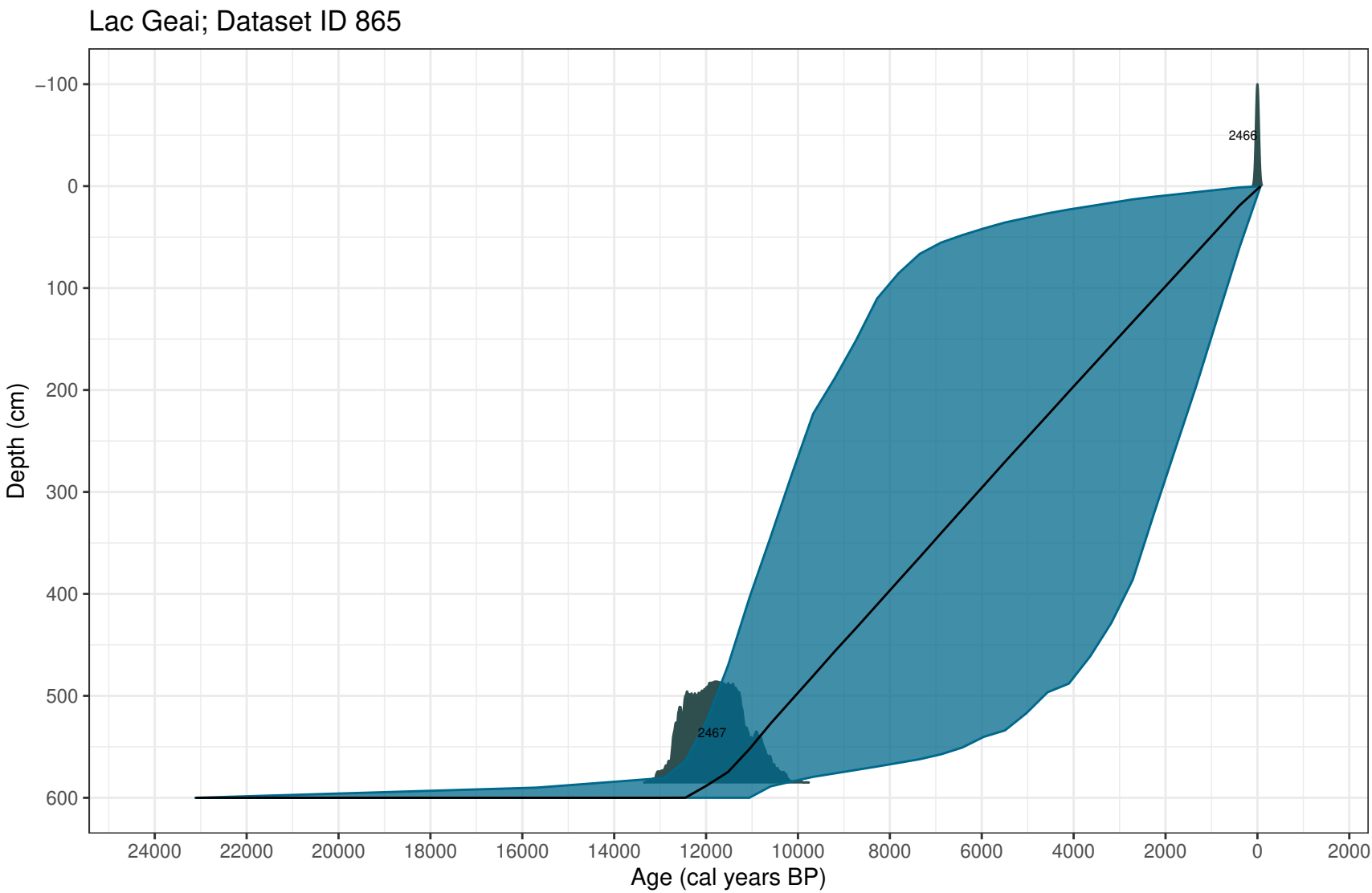
Lac Geai; Dataset ID 865
Depth (cm)
−100
0
100
200
300
400
500
600
2466
2467
24000
22000
20000
18000
16000
14000
12000
10000
8000
6000
4000
2000
0
2000
Age (cal years BP)

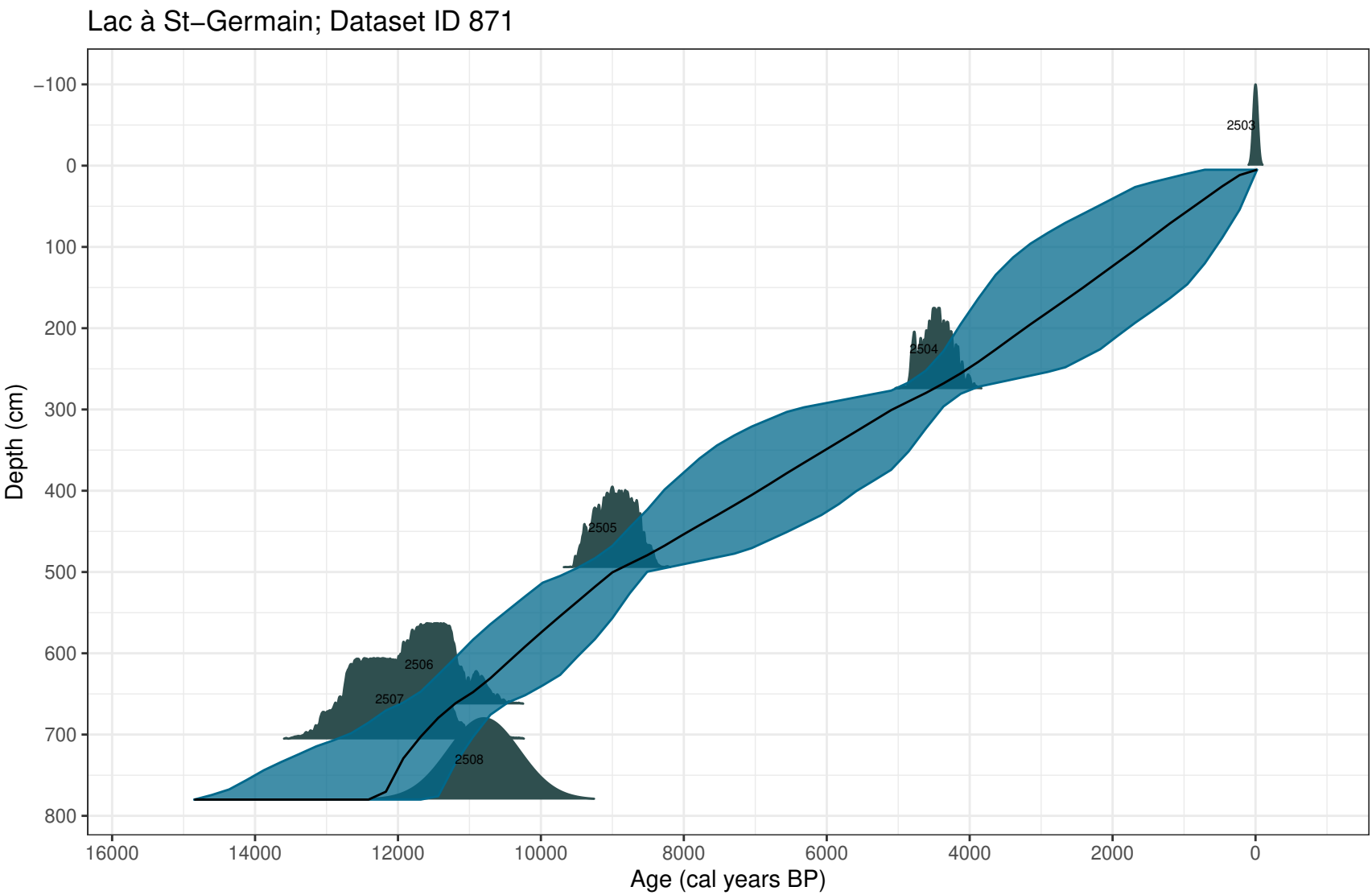
Lac à St−Germain; Dataset ID 871
Depth (cm)
−100
0
100
200
300
400
500
600
700
800
Age (cal years BP)
16000
14000
12000
10000
8000
6000
4000
2000
0
2503
2504
2505
2506
2507
2508

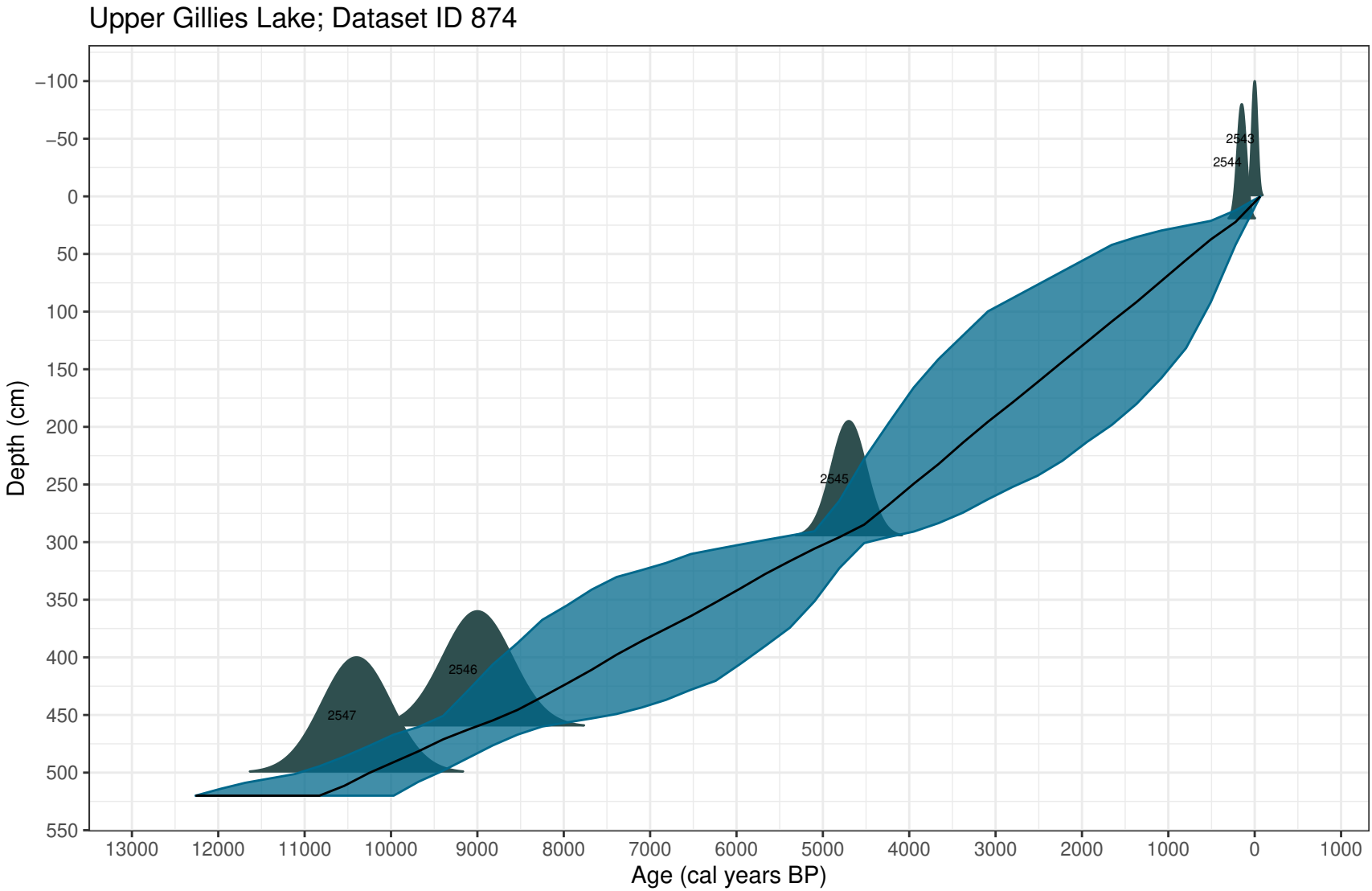
Upper Gillies Lake; Dataset ID 874
Depth (cm)
−100
−50
0
50
100
150
200
250
300
350
400
450
500
550
Age (cal years BP)
13000
12000
11000
10000
9000
8000
7000
6000
5000
4000
3000
2000
1000
0
1000
2543
2544
2545
2546
2547

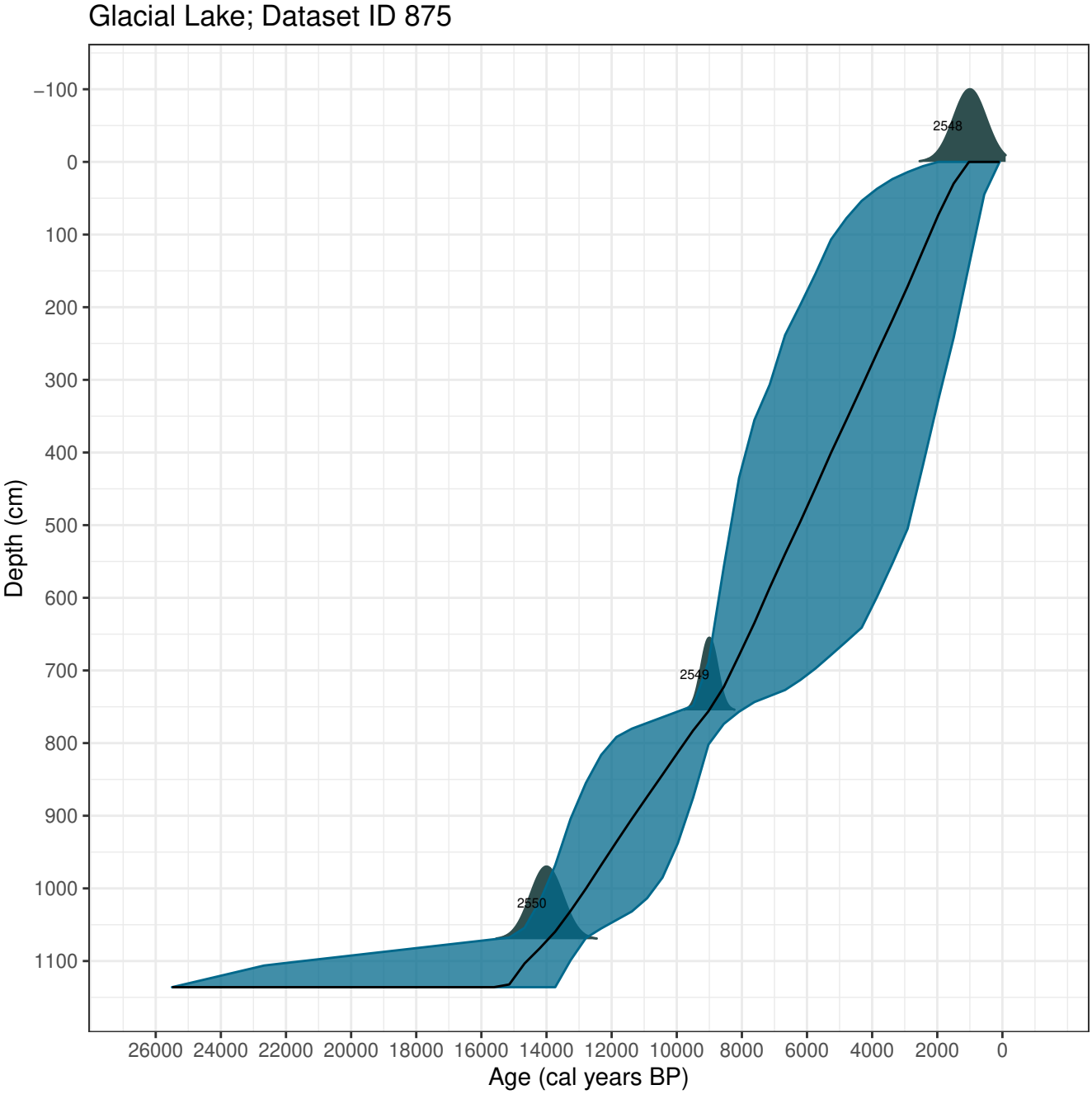
Glacial Lake; Dataset ID 875
Depth (cm)
−100
0
100
200
300
400
500
600
700
800
900
1000
1100
2548
2549
2550
26000
24000
22000
20000
18000
16000
14000
12000
10000
8000
6000
4000
2000
0
Age (cal years BP)

Jones Lake [Glenboro site]; Dataset ID 878

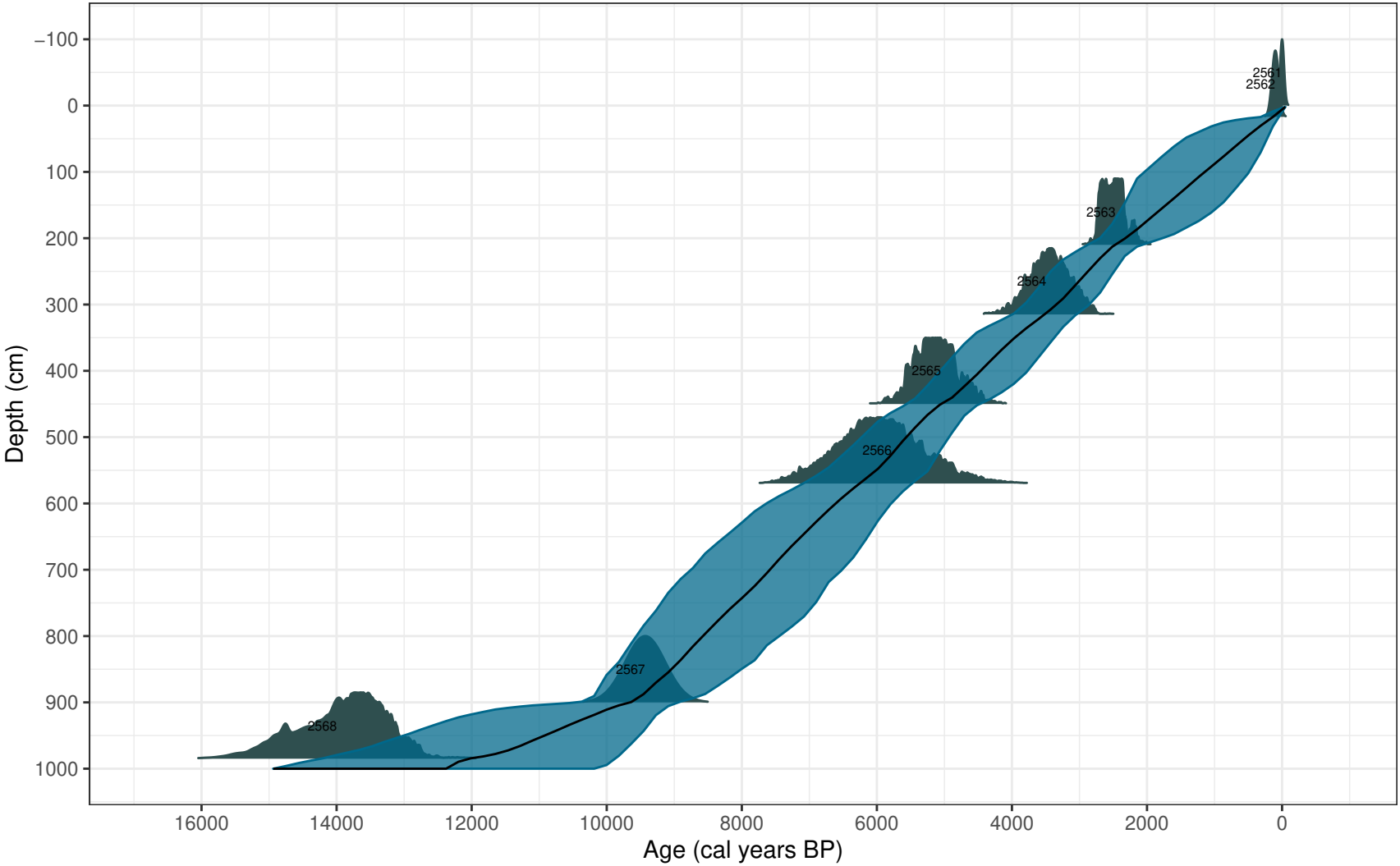

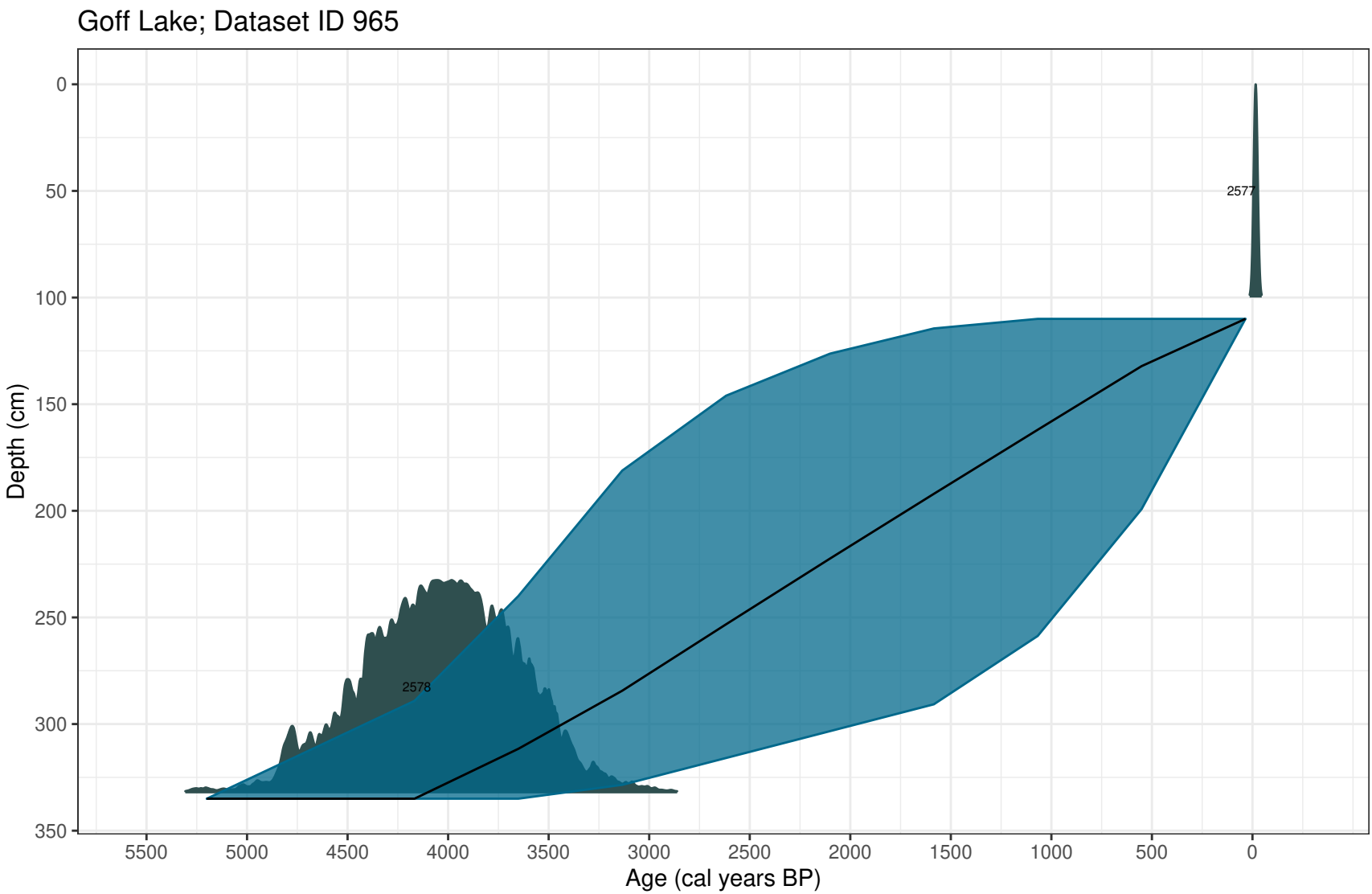
Goff Lake; Dataset ID 965
Depth (cm)
0
50
100
150
200
250
300
350
2577
2578
5500
5000
4500
4000
3500
3000
2500
2000
1500
1000
500
0
Age (cal years BP)

Gold Lake Bog; Dataset ID 966

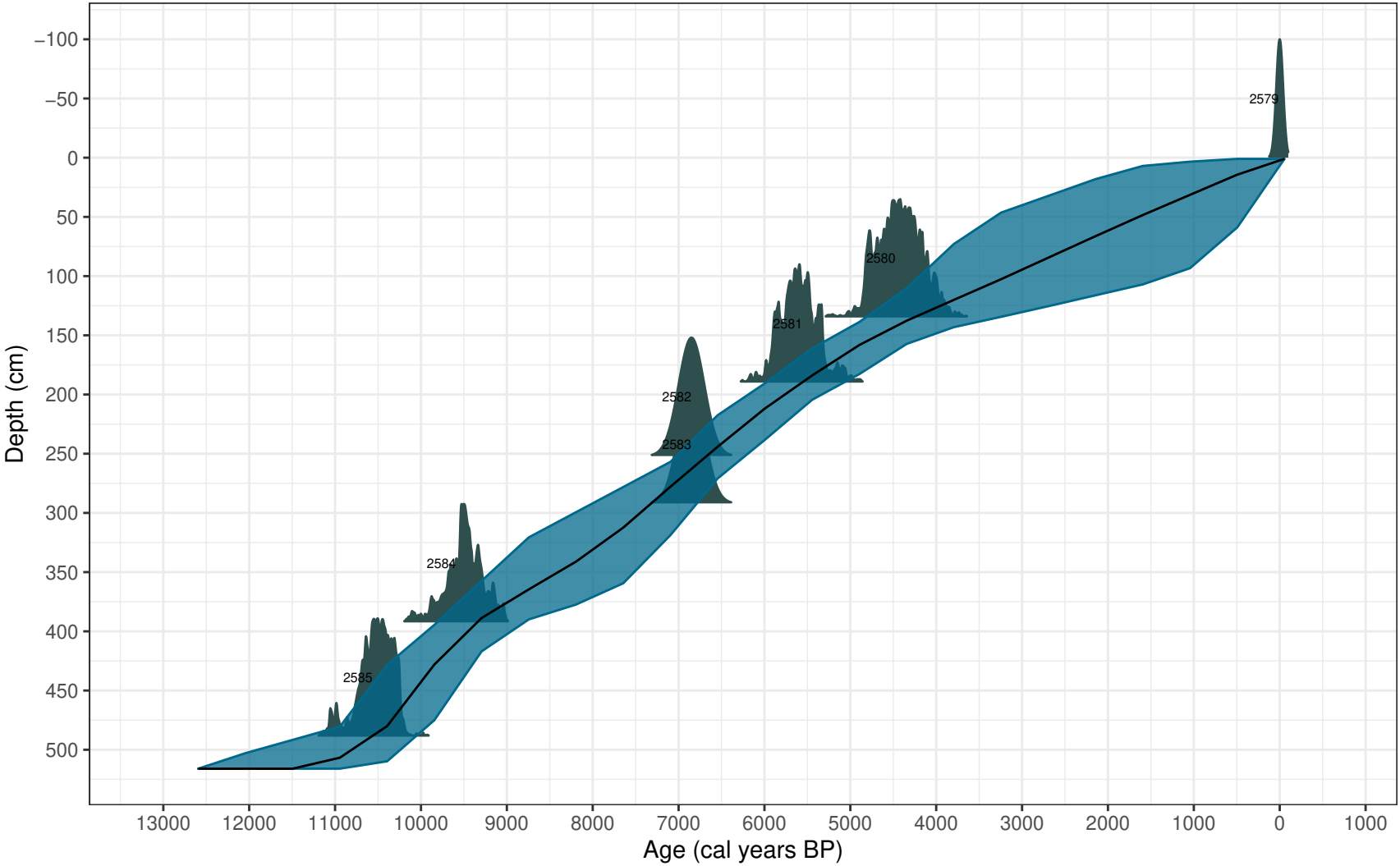

Goshen Springs; Dataset ID 969

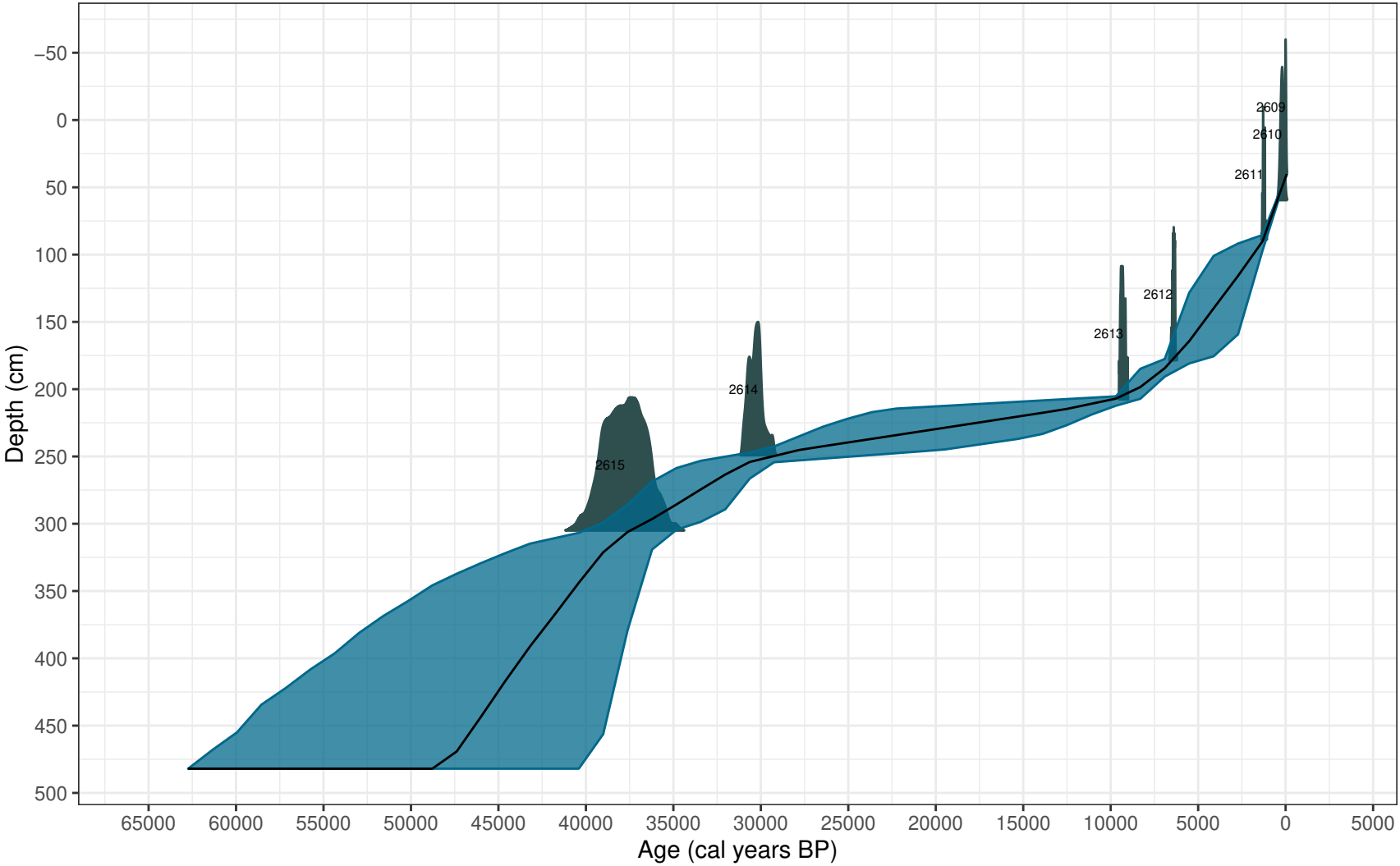

Gould Pond; Dataset ID 971

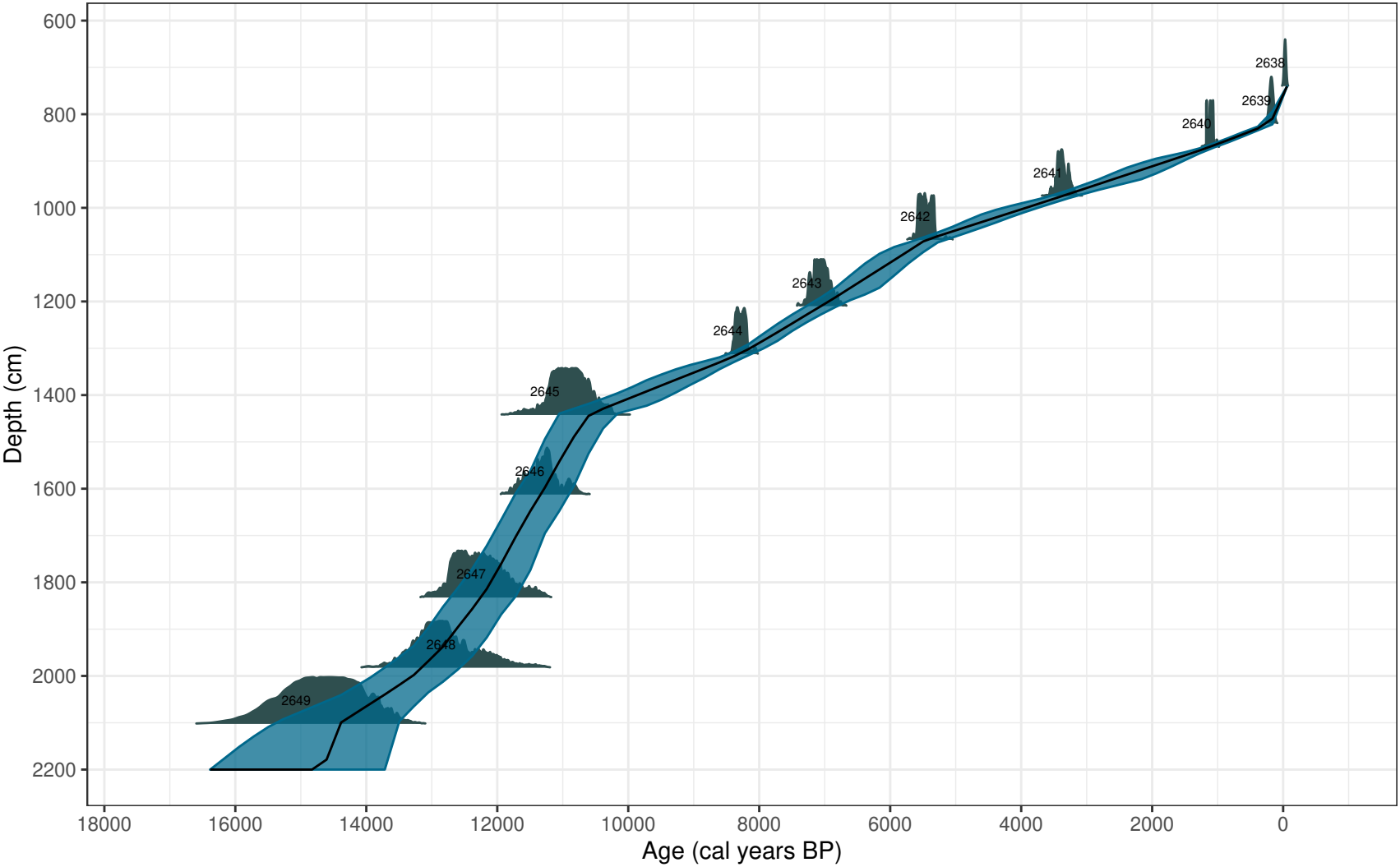

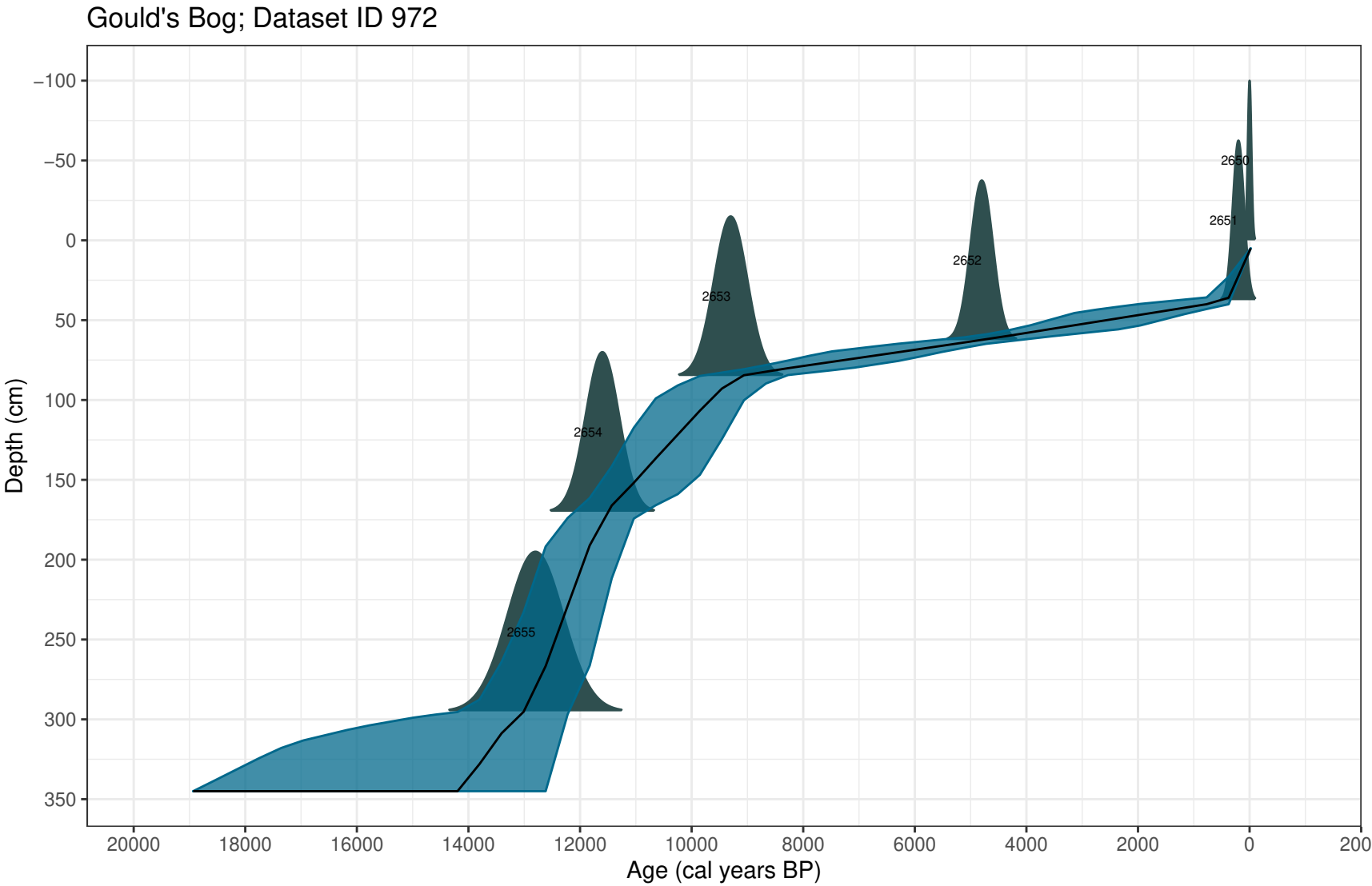
Gould's Bog; Dataset ID 972
Depth (cm)
−100
−50
0
50
100
150
200
250
300
350
Age (cal years BP)
20000
18000
16000
14000
12000
10000
8000
6000
4000
2000
0
200
2650
2651
2652
2653
2654
2655

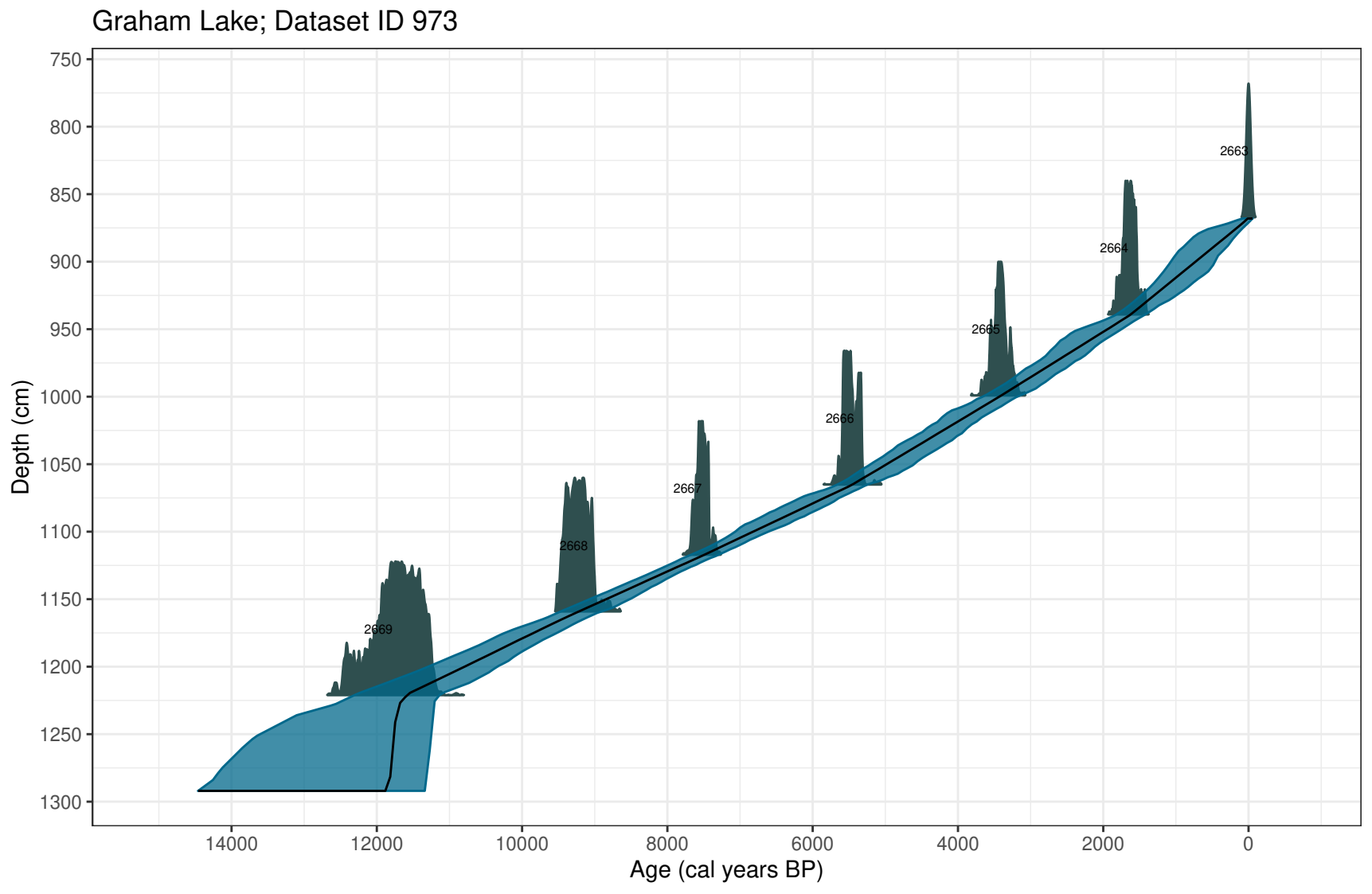
Graham Lake; Dataset ID 973
Depth (cm)
750
800
850
900
950
1000
1050
1100
1150
1200
1250
1300
Age (cal years BP)
14000
12000
10000
8000
6000
4000
2000
0
2663
2664
2665
2666
2667
2668
2669

Grand Rapids; Dataset ID 974

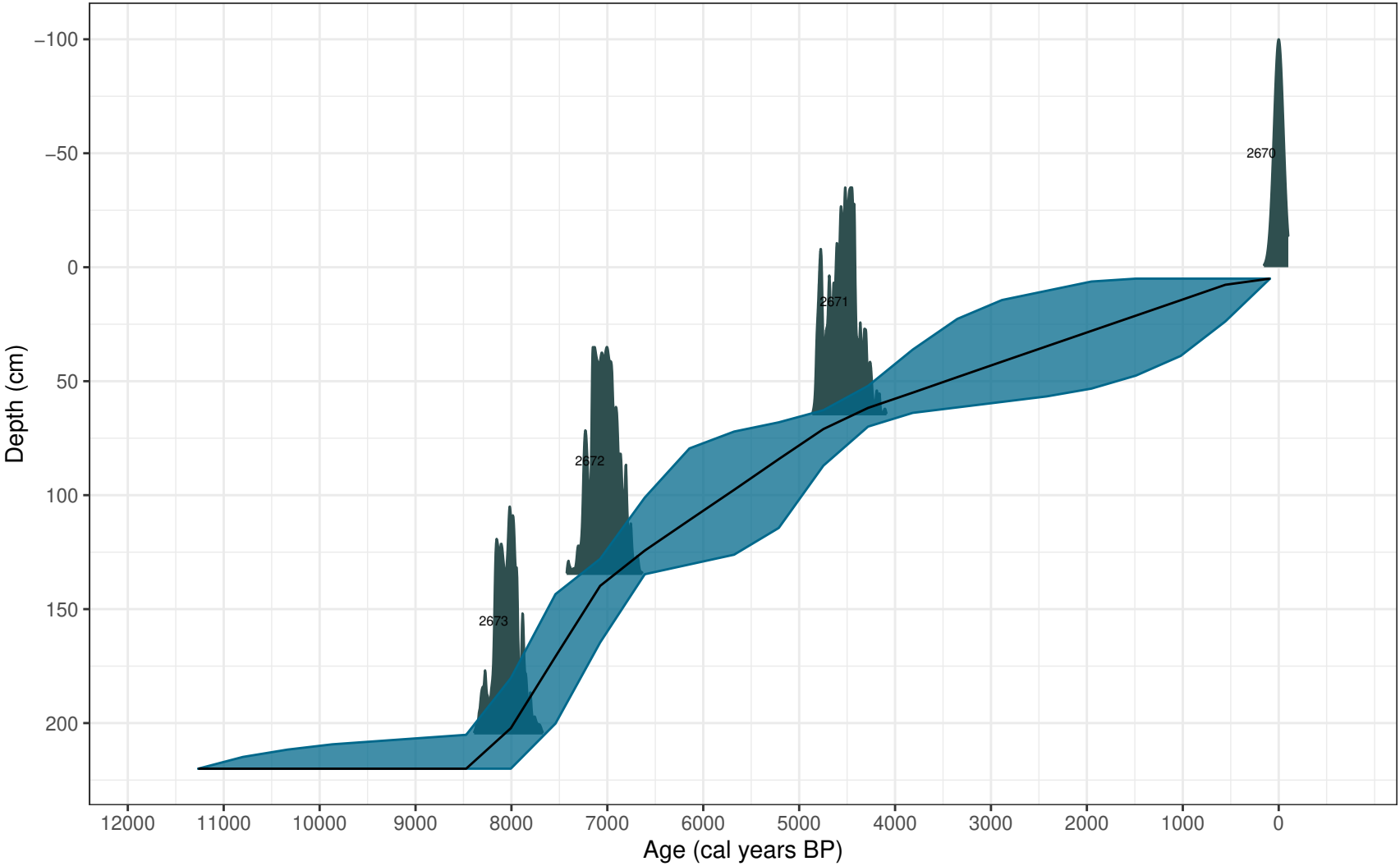

Grant Lake; Dataset ID 975

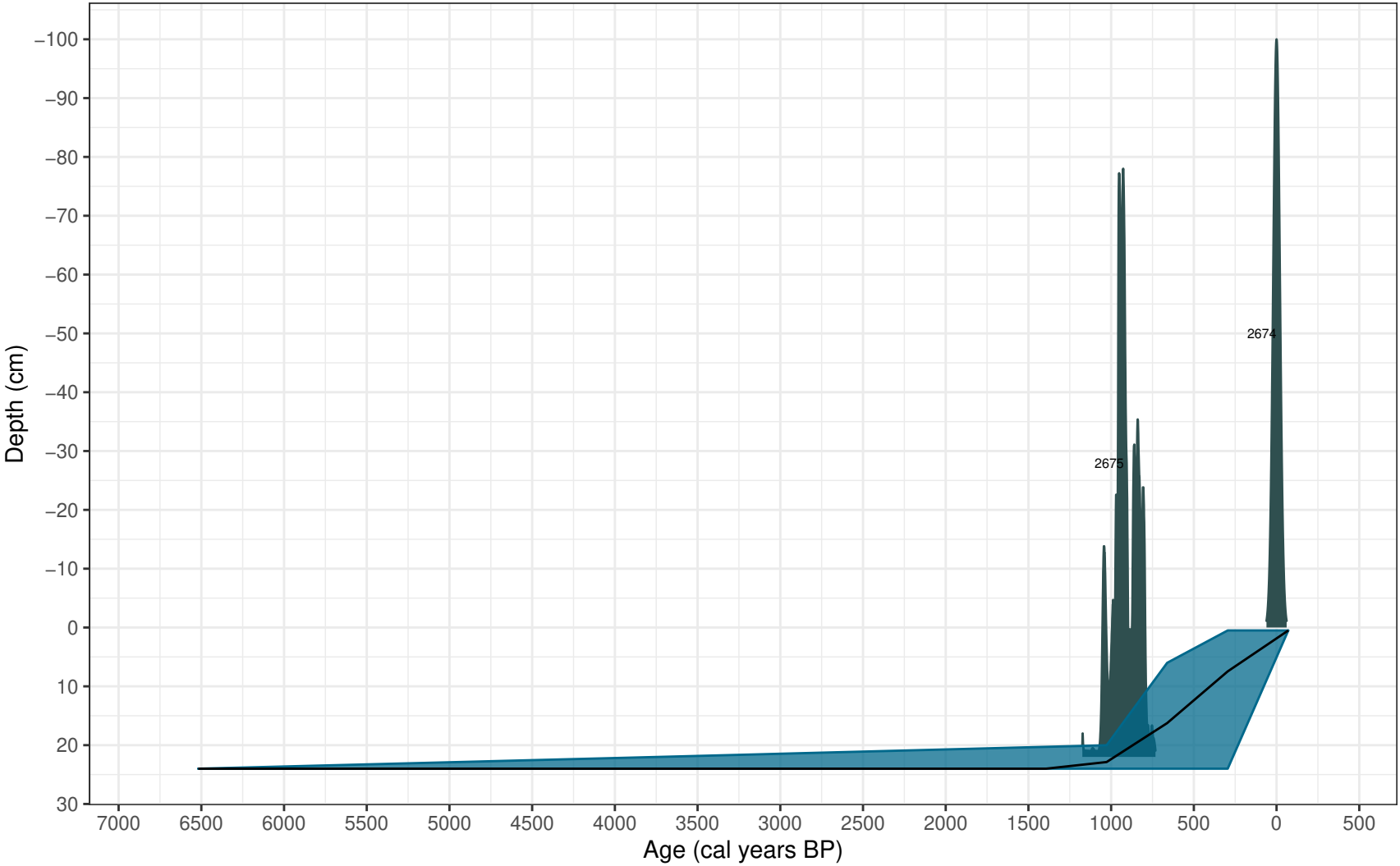

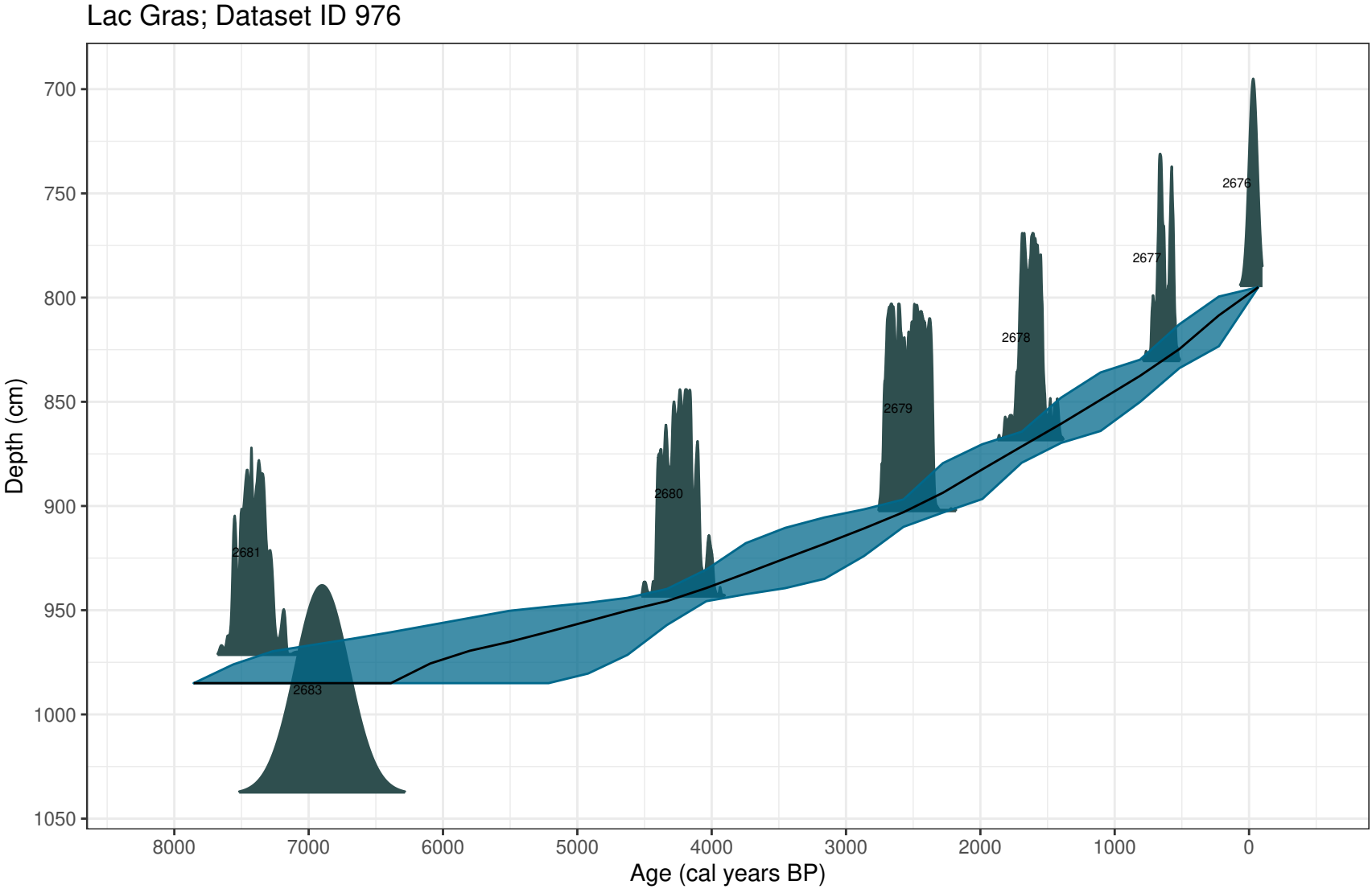
Lac Gras; Dataset ID 976
Depth (cm)
700
750
800
850
900
950
1000
1050
Age (cal years BP)
8000
7000
6000
5000
4000
3000
2000
1000
0
2676
2677
2678
2679
2680
2681
2683

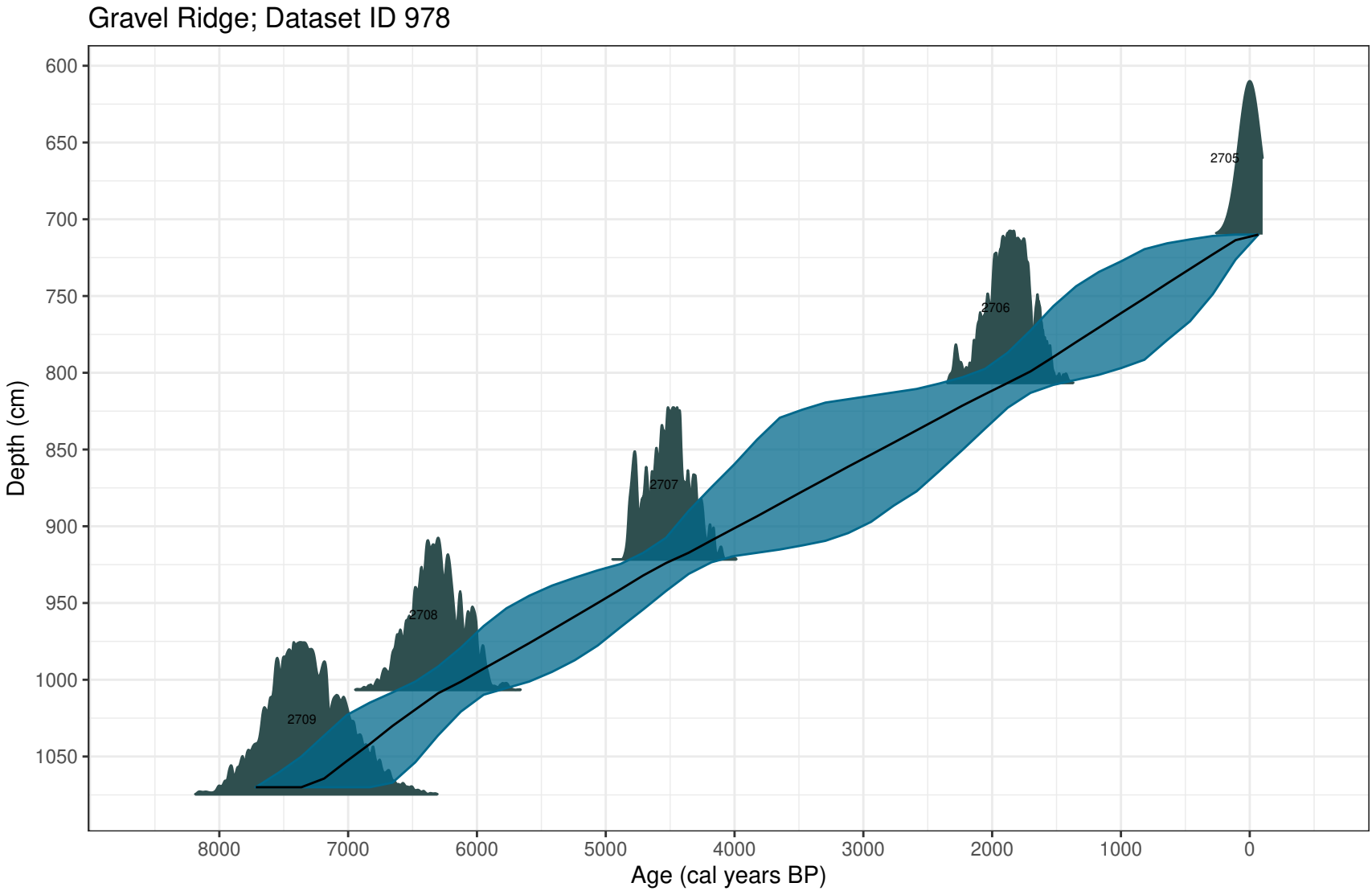
Gravel Ridge; Dataset ID 978
Depth (cm)
600
650
700
750
800
850
900
950
1000
1050
Age (cal years BP)
8000
7000
6000
5000
4000
3000
2000
1000
0
2705
2706
2707
2708
2709

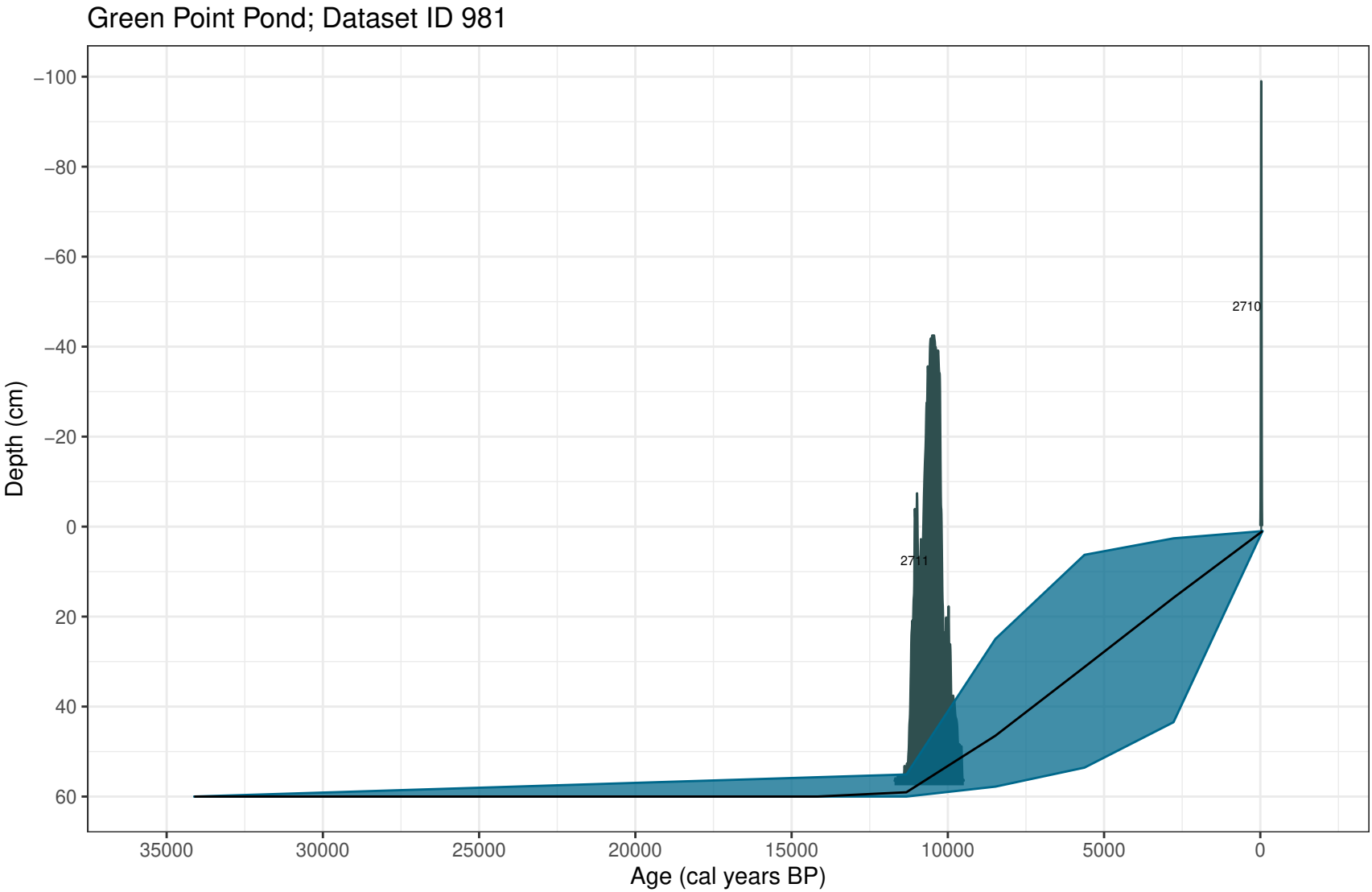
Green Point Pond; Dataset ID 981
Depth (cm)
−100
−80
−60
−40
−20
0
20
40
60
2710
2711
35000
30000
25000
20000
15000
10000
5000
0
Age (cal years BP)

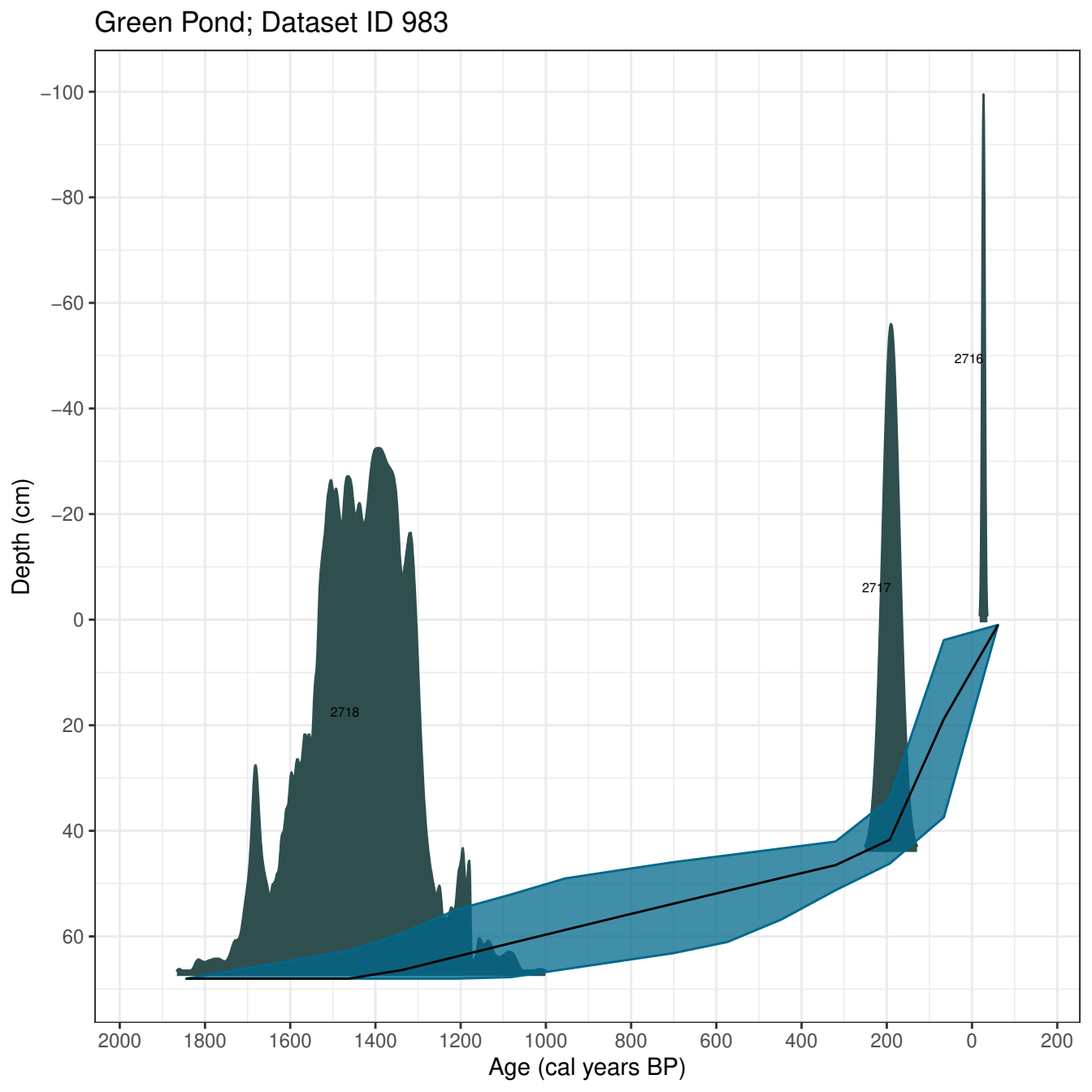
Green Pond; Dataset ID 983
Depth (cm)
−100
−80
−60
−40
−20
0
20
40
60
2716
2717
2718
2000
1800
1600
1400
1200
1000
800
600
400
200
0
200
Age (cal years BP)

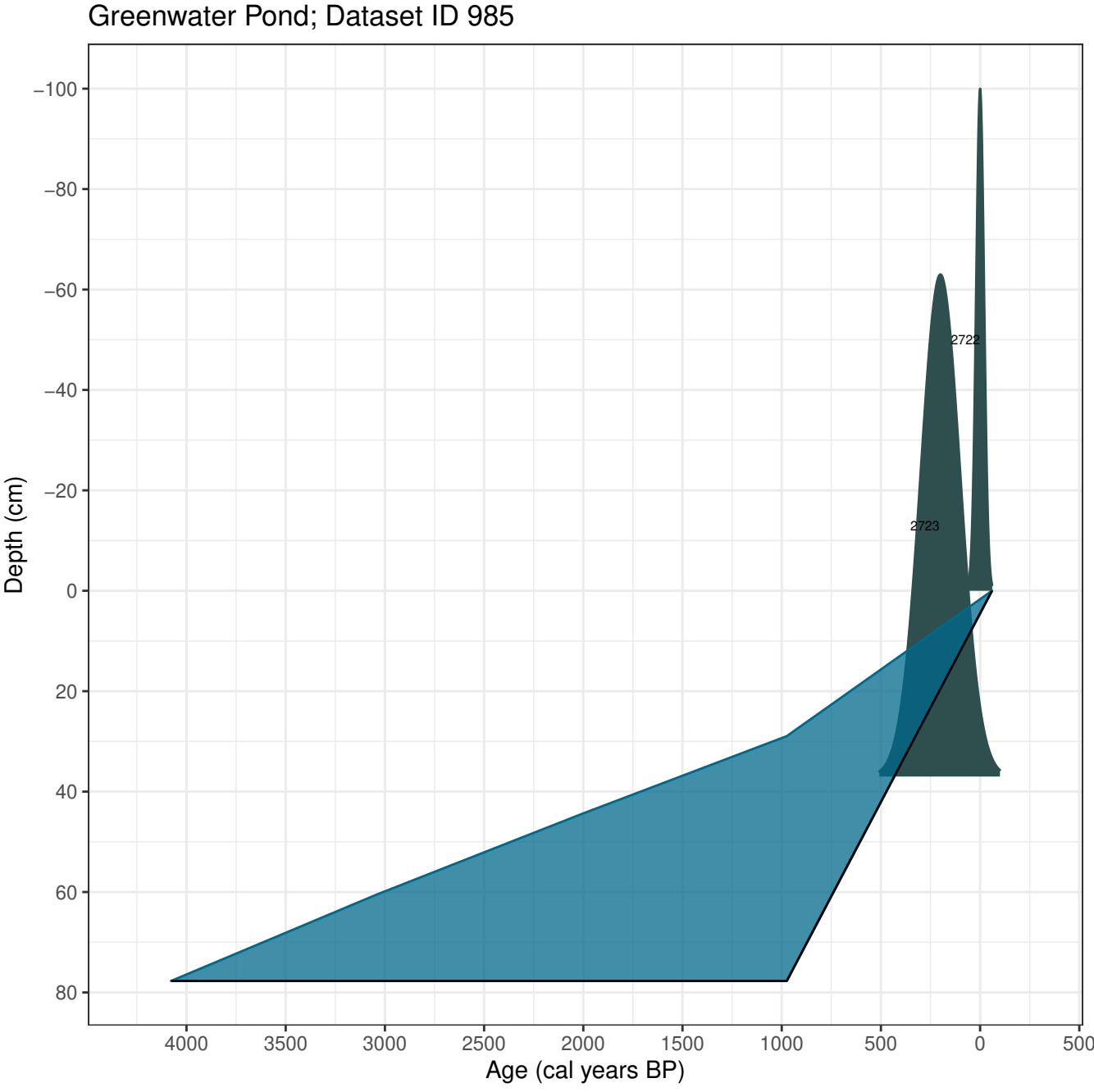
Greenwater Pond; Dataset ID 985
Depth (cm)
−100
−80
−60
−40
−20
0
20
40
60
80
2722
2723
4000
3500
3000
2500
2000
1500
1000
500
0
500
Age (cal years BP)

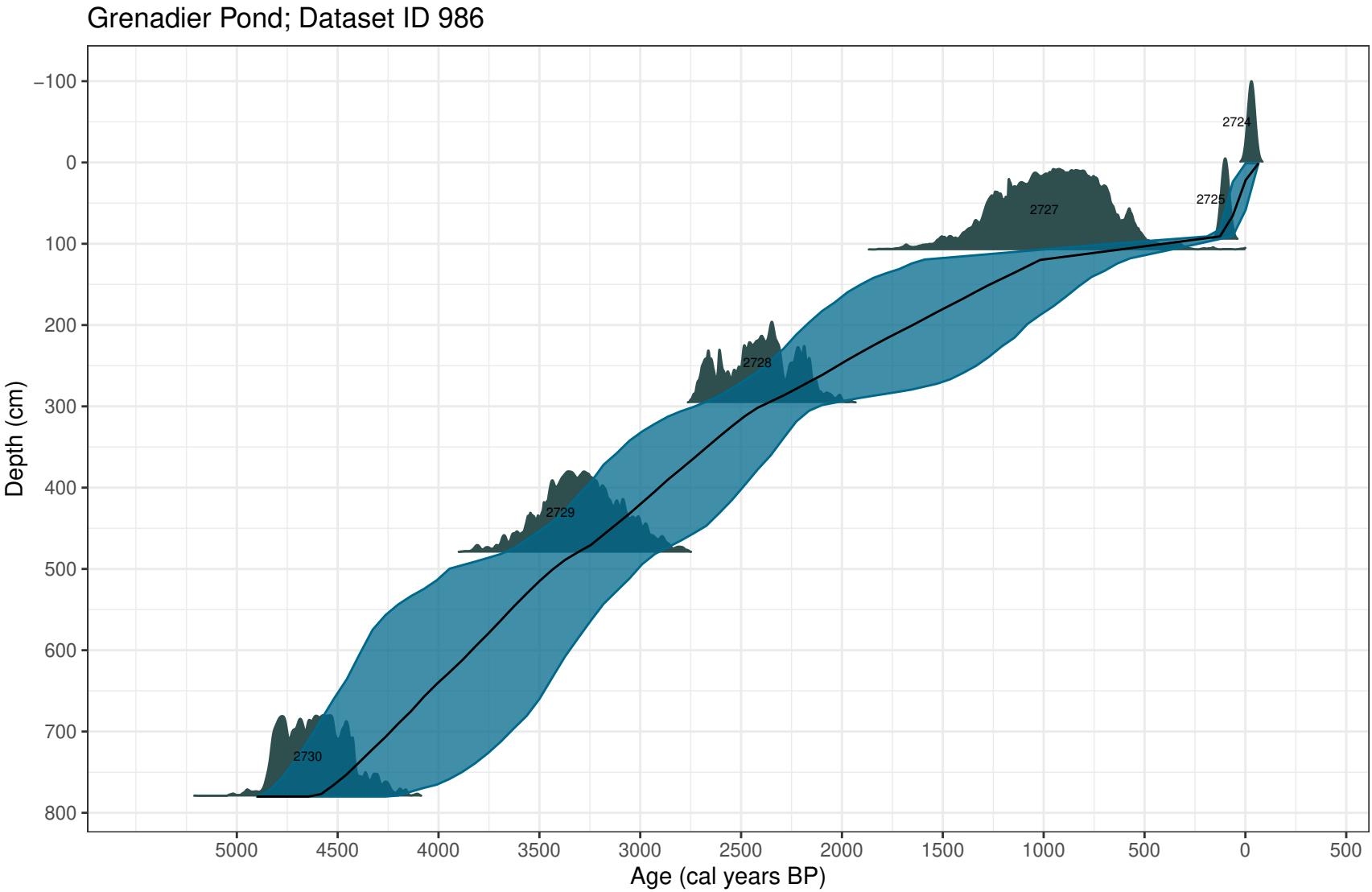
Grenadier Pond; Dataset ID 986
Depth (cm)
−100
0
100
200
300
400
500
600
700
800
Age (cal years BP)
5000
4500
4000
3500
3000
2500
2000
1500
1000
500
0
500
2724
2725
2727
2728
2729
2730

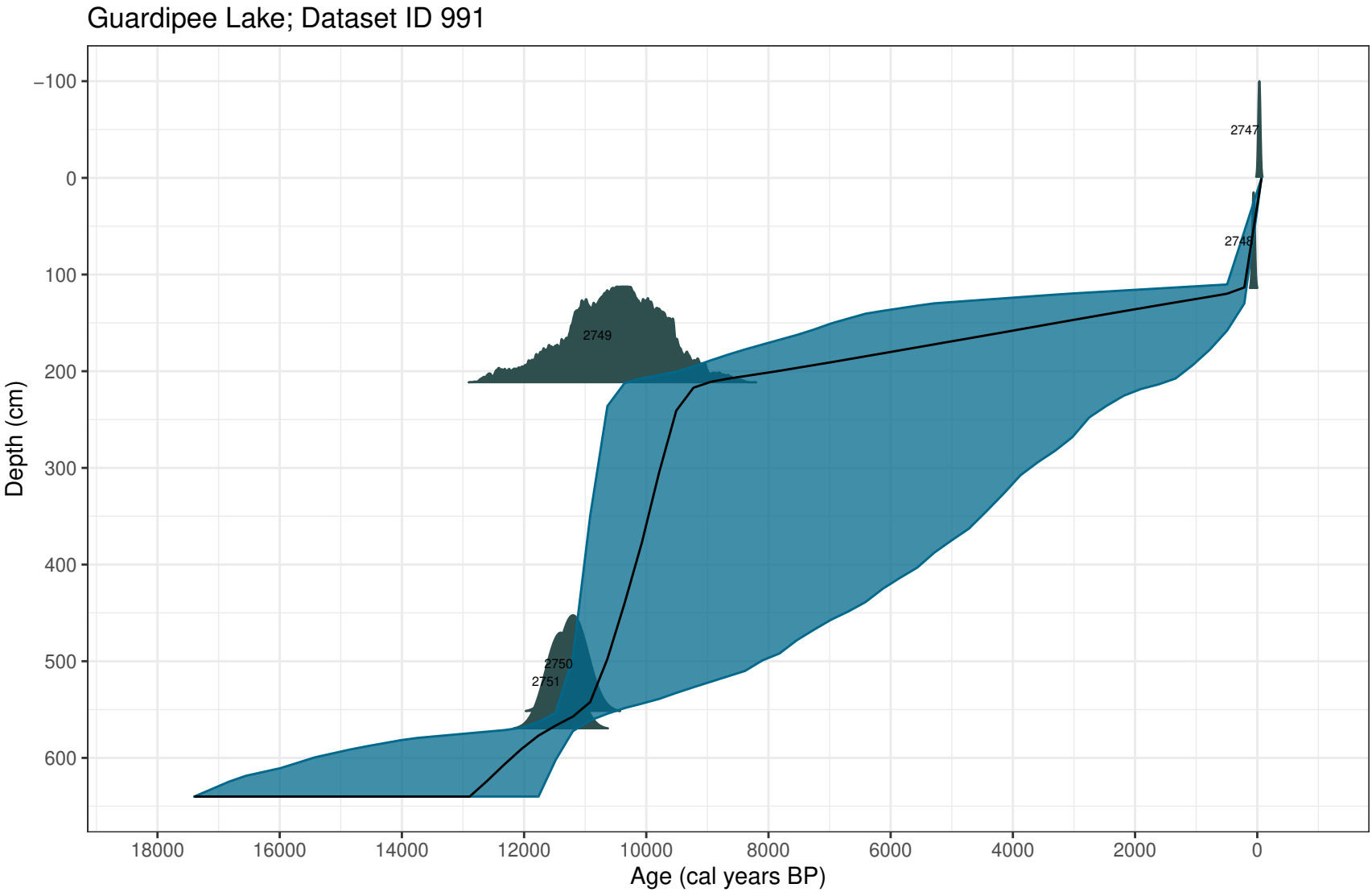
Guardipee Lake; Dataset ID 991
Depth (cm)
−100
0
100
200
300
400
500
600
Age (cal years BP)
18000
16000
14000
12000
10000
8000
6000
4000
2000
0
2747
2748
2749
2750
2751

Water Conservation Area 3B, Gumbo Limbo Near Tail; Dataset ID 995

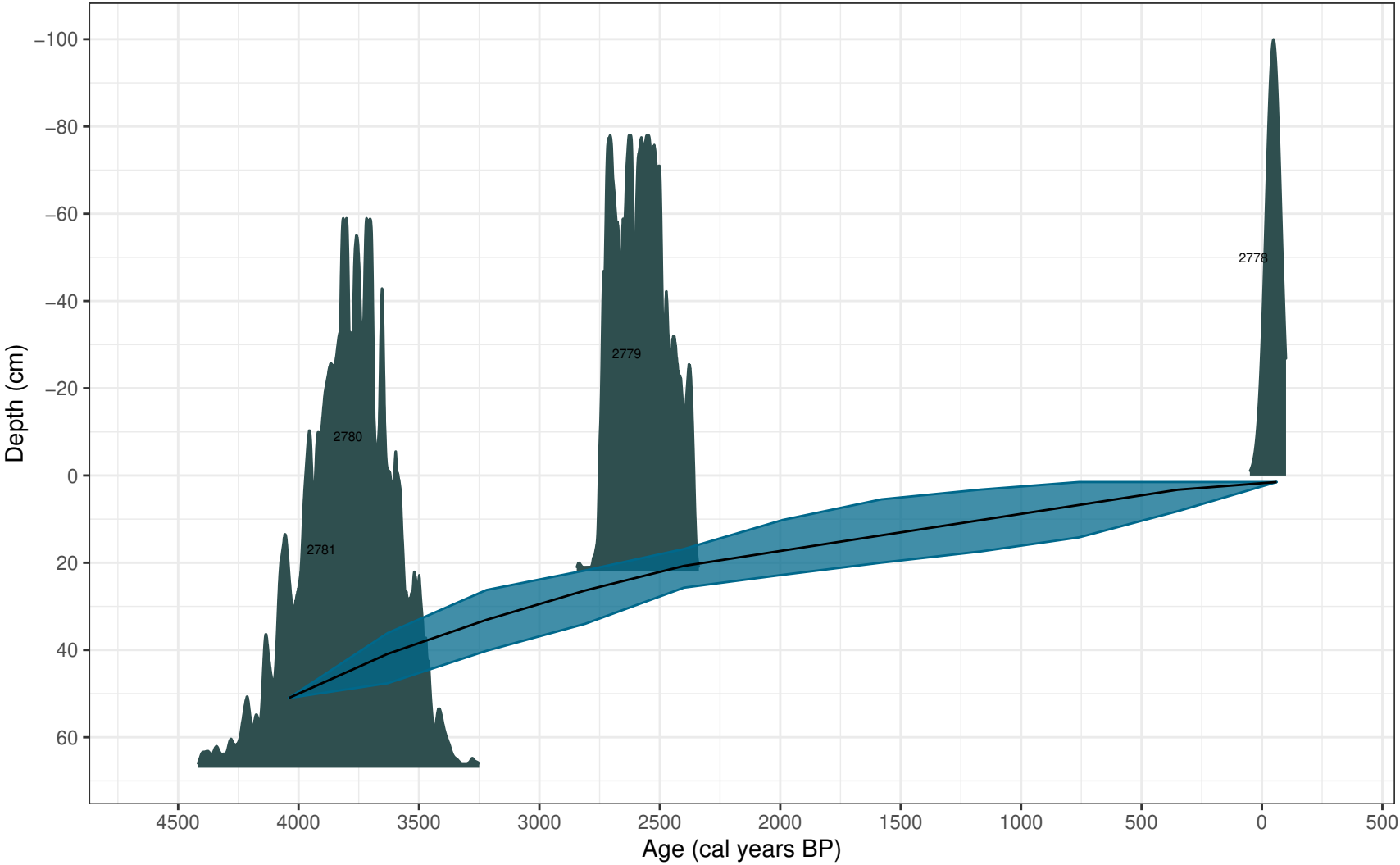

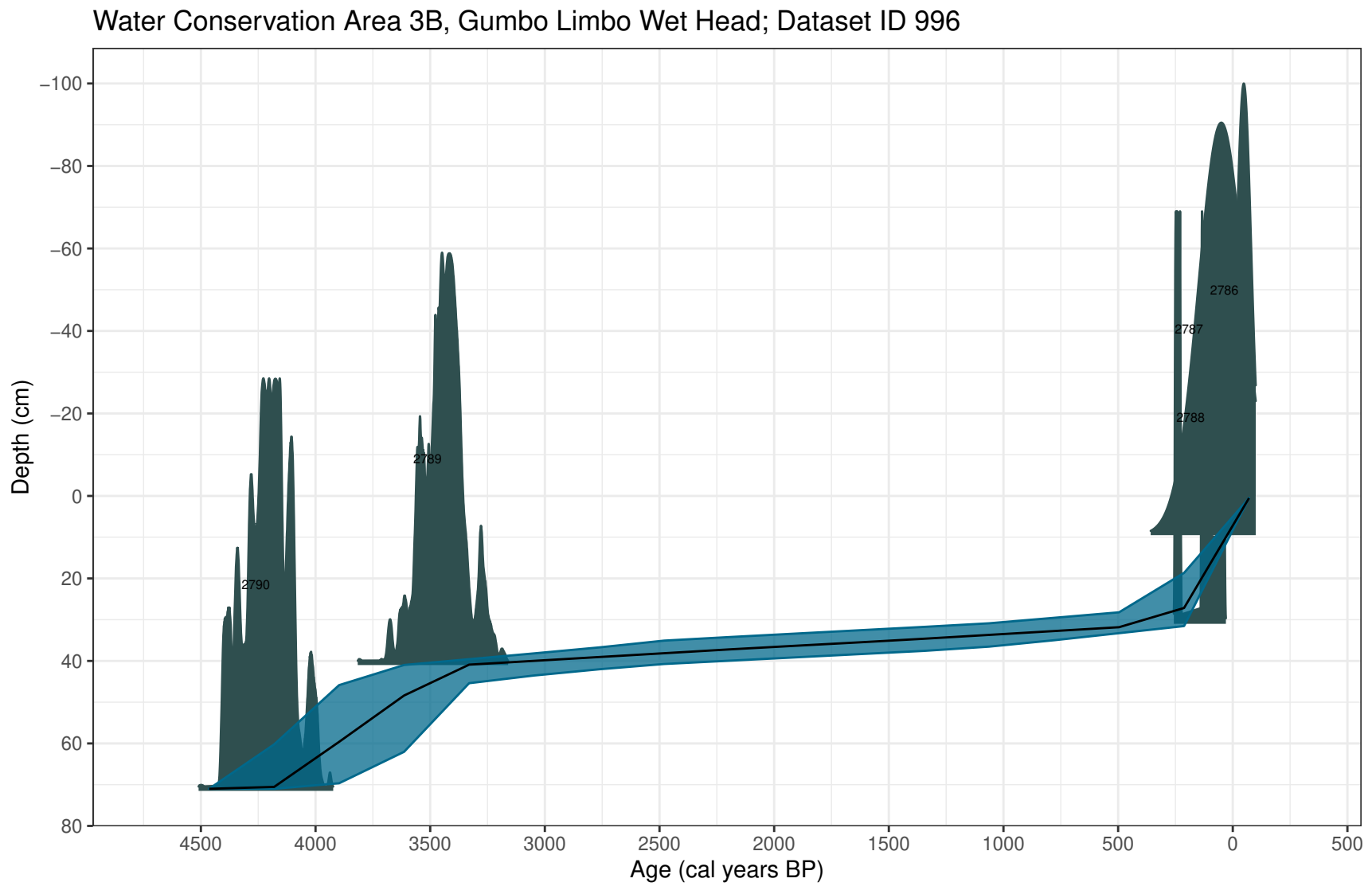
Water Conservation Area 3B, Gumbo Limbo Wet Head; Dataset ID 996
Depth (cm)
−100
−80
−60
−40
−20
0
20
40
60
80
Age (cal years BP)
4500
4000
3500
3000
2500
2000
1500
1000
500
0
500
2790
2789
2786
2787
2788

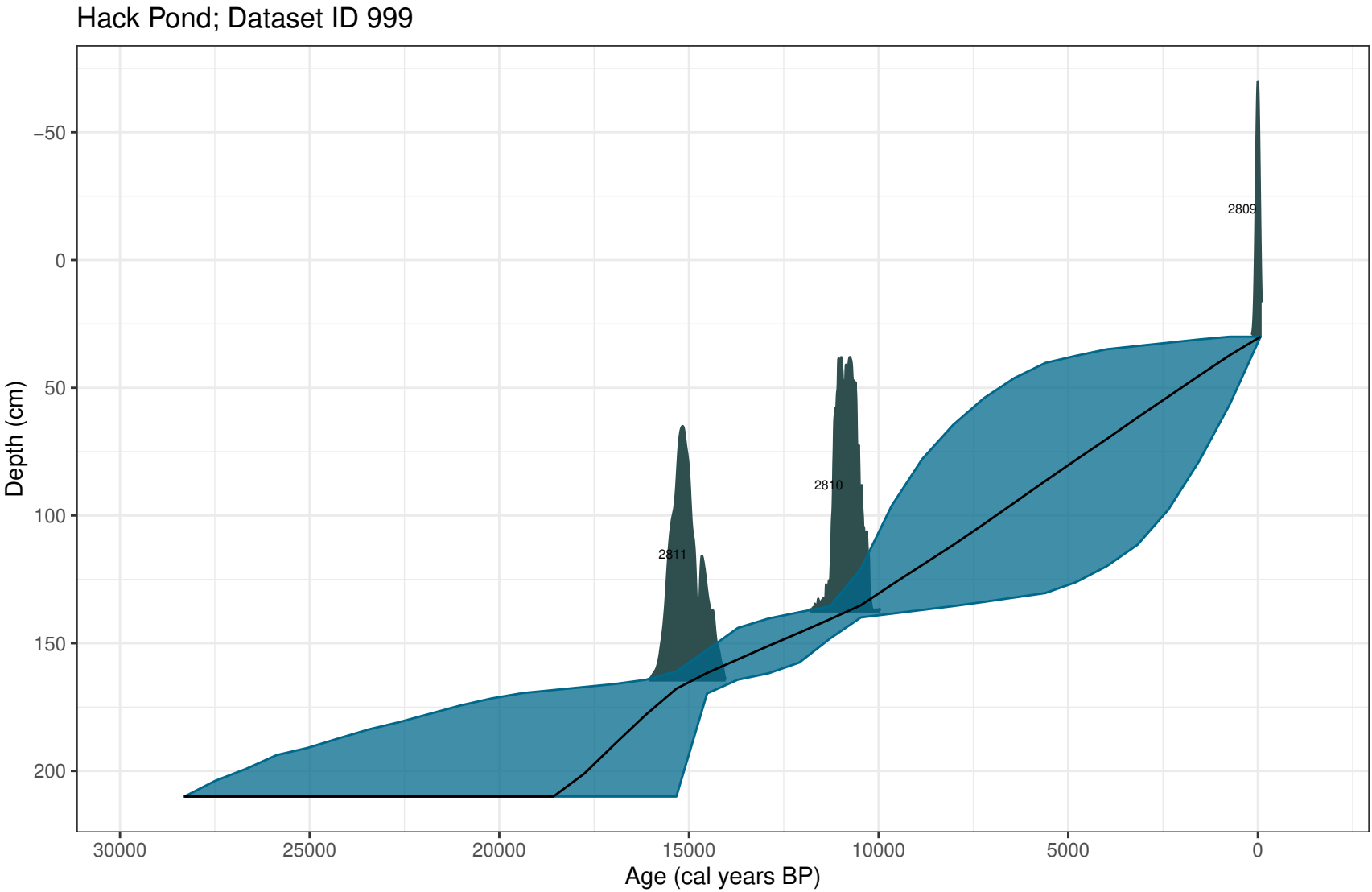
Hack Pond; Dataset ID 999
Depth (cm)
−50
0
50
100
150
200
2809
2810
2811
30000
25000
20000
15000
10000
5000
0
Age (cal years BP)